महाराष्ट्र राज्य
सर्वसाधारण माहिती

१) महाराष्ट्र राज्याची व्याप्ती ३,०७,७१३ चौ.कि.मी. इतकी आहे. राज्यात एकूण ३६ महसूल जिल्हे, ३५५ तालुके, ५३५ शहरे आणि ४३,६६३ खेडेगावांचा (वस्ती असलेली / वस्ती नसलेली) समावेश आहे. तसेच एक लाखाहून अधिक लोकसंख्या असलेली शहरे/ शहर संकुले यांची संख्या ४५ आहे.

२) २०११ च्या जनगणनेच्या आधारे महाराष्ट्र राज्याची सन २०१५ ची अंदाजीत लोकसंख्या ११९१.४३ लाख आहे. त्यापैकी पुरूषांची संख्या ६२३.४५ लाख असून स्त्रियांची संख्या ५६७.९८ लाख आहे. शहरी लोकसंख्या ३३५.२९ लाख (२८.१४%) असून ग्रामीण लोकसंख्या ८५६.१४ लाख (७१.८६%) आहे. लोकसंख्येची घनता (प्रति चौ.कि.मी.) ३८२ आहे. साक्षरतेचे प्रमाण (२०११ च्या जनगणनेनुसार) ८२.९% होते.

३) महाराष्ट्र राज्यात एकूण ३७३३९ नोंदणी झालेले चालू कारखाने असून त्यांत २०.५६ लाख इतके कामगार दैनंदिन कार्यरत आहेत (सन २०१५ प्रमाणे). मुंबई, ठाणे, पुणे, नाशिक, औरंगाबाद, नागपूर, चंद्रपूर, भंडारा, रायगड या जिल्हयात औद्योगिकरणाचे प्रमाण जास्त आहे.

४) राज्याची समुद्र किनारपट्टी ७२० कि.मी. इतकी आहे. लोहमार्गाची लांबी (सन २०१३ प्रमाणे) ६,१०३ कि. मी. आहे आणि रस्त्यांची लांबी (दि.३१-०३-२०१५ अखेर) २,९९,३६८ कि.मी. आहे.

५) सन २०१५-२०१६ च्या राज्य अर्थसंकल्पात एकूण रु. २४३०२६.०९ कोटींची तरतूद आहे. त्या पैकी पोलीस विभागासाठी एकूण रु.११४८४.१४ कोटी रुपयांची (४.७२ %) तरतूद करण्यात आली आहे.

महाराष्ट्र राज्य पोलीस -एक दृष्टिक्षेप

१) महाराष्ट्र राज्य पोलीस दलाचे प्रमुख हे पोलीस महासंचालक आहेत. पोलीस प्रशासनाच्या दृष्टीने राज्यात एकूण ९ पोलीस आयुक्तालये व ३४ पोलीस जिल्हे असून त्या जिल्ह्यांची विभागणी ८ परिक्षेत्रांमध्ये करण्यात आलेली आहे. यामध्ये नव्याने निर्माण झालेल्या गडचिरोली परिक्षेत्राचा समावेश असून त्याचे प्रमुख पोलीस उप महानिरीक्षक दर्जाचे अधिकारी आहेत. गडचिरोली वगळता प्रत्येक परिक्षेत्राचे प्रमुख म्हणून विशेष पोलीस महानिरीक्षक दर्जाचे अधिकारी आहेत. याशिवाय लोहमार्ग पोलीस परिक्षेत्राचा स्वतंत्र विभाग करण्यात आलेला असून त्याचे प्रमुख अपर पोलीस महासंचालक दर्जाचे अधिकारी आहेत. त्यात पोलीस आयुक्त, लोहमार्ग मुंबई (विशेष पोलीस महानिरीक्षक), पोलीस अधीक्षक लोहमार्ग पुणे व नागपूर असे २ रेल्वे पोलीस जिल्हे, हे ३ घटक अपर पोलीस महासंचालक लोहमार्ग, परिक्षेत्र यांच्या नियंत्रणाखाली आहेत.

२) आयुक्त, राज्य गुप्तवार्ता विभाग हे अपर पोलीस महासंचालक दर्जाचे अधिकारी असून त्यांचे मदतीसाठी ३ सह आयुक्त (वि.पो.म.नि.) व राज्य मुख्यालयात प्रशासन, राजकीय, कामगार, जातीय दंगली, सुरक्षा / नक्षलवाद इत्यादी विषय हाताळण्याकरिता १० उपायुक्त आहेत. तसेच राज्यातील गुप्तवार्ता संकलनासाठी ९ घटक कार्यालये पुणे, कोल्हापूर, कोकण भवन, नागपूर, औरंगाबाद, अमरावती, नांदेड, नाशिक आणि ठाणे असे कार्यरत आहेत.

Maharashtra State
General Information

1) The State of Maharashtra covers an area of 3,07,713 sq. km. It comprises 36 Revenue Districts, 355 Tahsils, 535 towns and 43,663 villages (Inhabited and uninhabited). Number of Cities having population more than 1 Lakh are 45.

2) Based on 2011 census, the total estimated population of Maharashtra State during 2015 is 1191.43 Lakh. Out of which 623.45 Lakh are Males and 567.98 Lakh are Females.The Urban population is 335.29 Lakh (28.14%), while the Rural population is 856.14 Lakh (71.86%). The density of population per sq. Km. is 382. The percentage of literacy (As per 2011 census) is 82.9%.

3) There are 37339 Registered working factories in the State and the average daily work force is 20.56 lakh (As on 2015). The extent of industrialization is more in following districts : Mumbai, Thane, Pune, Nasik, Aurangabad, Nagpur, Chandrapur, Bhandara and Raigad.

4) The State's coastline admeasures 720 kms, Railway lines network measures 6103 kms(As on 2013). and the roadways network is 2,99,368 kms. (as on 31st Mar. 2015).

5) The total budget outlay of the State for the year 2015–2016 was Rs. 243026.09 crores. The share of the Police Department was Rs. 11484.14 crores (4.72 %).

Maharashtra State Police – At a glance

1) The Maharashtra Police force is headed by a Director General of Police. There are 9 Police Commissionerates and 34 Police Districts, which are divided into 8 Ranges. Newly created Gadchiroly Range has also been included and headed by DIGP and other every Range is headed by a Special Inspector General of Police. Besides that, there is a separate Railway Police Range headed by an Addl. Director General of Police, under whom 3 units - Commissioner of Police (Railways), Mumbai, (Spl.I.G.P.) and Ss.P. Pune and Nagpur. (Railways) are functioning.

2) The State Intelligence Dept. (SID) of the State Police is headed by Commissioner, SID who is of the rank of Addl.D.G.P. and is assisted by 3 Jt. Commissioner (Spl.I.G. P.) and 10 Dy. Commissioners, each dealing with different subjects such as Administration, Political, Labour, Communal, Security / Naxalism etc. There are 9 unit offices at Pune, Kolhapur, Kokan Bhavan, Nagpur, Aurangabad, Amravati, Nanded, Nasik and Thane in the State to collect the intelligence.

३) गडचिरोली, गोंदिया, भंडारा, नांदेड, चंद्रपूर व यवतमाळ या जिल्हयांना भेडसावणाऱ्या नक्षलवाद्यांच्या कारवायांना आळा घालण्यासाठी तसेच महाराष्ट्राच्या सिमेलगतच्या जिल्हयांना भेडसावणा-या नक्षलवाद्यांच्या कारवायांना आळा घालण्यासाठी तसेच शेजारच्या (आंध्रप्रदेश, मध्यप्रदेश आणि छत्तीसगढ) राज्याशी समन्वय साधण्यासाठी विशेष पोलीस महानिरीक्षक, नक्षल विरोधी अभियान यांचेवर जबाबदारी सोपवण्यात आली आहे. त्यांचे कार्यालय नागपुर येथे असून त्यांचे नियंत्रणाखाली पोलीस अधीक्षक , नक्षल विरोधी अभियान, नक्षलवादी विरोधी पथके कार्यरत आहेत. वि.पो.म.नि. फोर्स - १ मुंबई याचे नियंत्रणाखाली २ पोलीस अधीक्षक आहेत. तसेच २ पोलीस महानिरीक्षक दहशतवादी विरोधी पथक यांची नवनिर्मीत पदे असून पोलीस महानिरीक्षक - द. वि. पथक - I हे मुंबई विभागासाठी असून यांचे नियंत्रणाखाली २ पोलीस अधीक्षक आहेत. पोलीस महानिरीक्षक - द. वि. पथक - II हे पुणे विभागासाठी असून १ पोलीस उप आयुक्त आहे. वरील सर्व पथके अपर पोलीस महासंचालक दशहतवाद विरोधी पथक यांचे नियंत्रणाखाली आहेत.

3) The responsibility to deal with Naxalite activities, mainly in the districts of Gadchiroli, Gondia, Bhandara, Nanded, Chandrapur & Yavatmal, to co-ordinate Anti Naxalite Operations in the bordering districts of the State and to co-ordinate with the neighbouring States (Andhra Pradesh, Madhya Pardesh and Chhattisgad) is entrusted to Spl IGP., Anti-Naxalite Operations. His office is situated at Nagpur. He is assisted by SP (ANO). There is also 1 post of Spl.I.G. P. force - I Mumbai & 2 SPs. There are 2 IGs posts newly created for ATS I & II. IG ATS - I is for Mumbai & assisted by 2 SPs. IG ATS - II is for Pune & assisted by 1 DCP. Above all units are working under Addl.DGP (Anti-Terrorists).

४) गुन्हे अन्वेषण विभाग, महाराष्ट्र राज्य, पुणे या विभागाच्या प्रमुखपदी अपर पोलीस महासंचालक दर्जाचे अधिकारी असून त्यांचे मुख्यालय पुणे येथे आहे. त्यांचे मदतीस विशेष पोलीस महानिरीक्षक (राज्य गुन्हे अभिलेख केंद्र), विशेष पोलीस महानिरीक्षक (गुन्हे-पश्चिम) , विशेष पोलीस महानिरीक्षक (गुन्हे पूर्व) व विशेष पोलीस महानिरीक्षक (महिला अत्याचार प्रतिबंधक विभाग)हे काम पाहतात.तसेच पोलीस उप महानिरीक्षक हे पद कार्यालयीन कामकाजासाठी नव्याने निर्माण करण्यात आले आहे.याशिवाय प्रादेशिक स्तरावर ७ पोलीस अधीक्षक, पुणे, नागपूर, औरंगाबाद, नाशिक, अमरावती, कोल्हापूर, कोकण भवन नवी मुंबई या विभागांचे काम पहात असून त्यांचे मुख्यालय त्या-त्या जिल्हयांच्या ठिकाणी आहे. तसेच आर्थिक गुन्ह्यांच्या तपासासाठी पोलीस उप महानिरीक्षक व पोलीस अधीक्षक (एक पद) यांची नेमणूक केली आहे. विशेष पोलीस महानिरीक्षक, (रा.गु.अ.के.) यांचे नियंत्रणाखाली पोलीस अधीक्षक, (कायदा व संशोधन), पोलीस अधीक्षक, सायबर सेल, व पोलीस अधीक्षक (तांत्रिक सेवा). संचालक, अंगुलीमुद्रा केंद्र, मुख्य शासकीय दस्तऐवज परिक्षक व अपर पोलीस अधीक्षक, श्वान प्रशिक्षण केंद्र हे आहेत.

4) The State CID, Maharashtra State is headed by an Addl. Director General of Police with his Head Quarters at Pune. He is assisted by the Spl. Inspector General of Police (State Crime Records Bureau), Spl. Inspector General of Police (Crime - West), Spl. Inspector General of Police (Crime - East) and Spl. Inspector General of Police (Prevention of Attrocity against women). Moreover post of DIG (Admin.) is newly created for administration related work. There are 7 Regional Supdts. of police stations at Pune, Aurangabad, Nagpur, Nasik, Amravati, Kolhapur & Navi Mumbai. DIGP and one posts of Supdt. of police for Economic offences. Supdt.of Police, (Law and Research), Supdt. of Police (Cyber Cell), SP (T & S). Director Finger Print Bureau, Chief Examiner of Documents and Additional Superitendent of Police (Dog training Centre) are under Spl.I.G.P.(SCRB).

५) राज्यात एकूण १६ राज्य राखीव पोलीस दले असून त्यांची विभागणी २ परिक्षेत्रात अनुक्रमे पुणे व नागपूर अशी करण्यात आलेली आहे. त्यांचेवर विशेष पोलीस महानिरीक्षक यांचे नियंत्रण आहे. संपूर्ण राज्य राखीव पोलीस दलावर अपर पोलीस महासंचालक रा.रा.पो. बल मुंबई, यांचे नियंत्रण आहे.

5) There are 16 State Reserve Police Force Groups in the State divided into 2 Ranges headed by Dy. Inspector General of Police having Head Quarters at Pune and Nagpur, respectively. The S.R.P.F. is headed by Addl. Director General of Police stationed at Mumbai.

६) महाराष्ट्र राज्य पोलीस मोटार परिवहन विभागाचे प्रमुख विशेष पोलीस महानिरीक्षक, पुणे हे असून त्यांचे अधिपत्याखाली पोलीस अधीक्षक, मोटार परिवहन विभाग, पुणे, नागपूर व पोलीस उपआयुक्त, मोटार परिवहन, मुंबई हे आहेत. या विभागात एकूण १७.०८० पोलीस वाहने उपलब्ध असून ती खालीलप्रमाणे आहेत (मुंबई शहरासह).

विशिष्ट उद्देशासाठी वाहने - ३५२
जडवाहने - १३८४
हलकी वाहने - १८३१
जीप - ५६५३
मोटार कार - ७६४
मोटार सायकल - ७०९६

6) Motor Transport Section of Maharashtra Police is headed by Dy. Inspector General of Police, Motor Transport, Pune. He is assisted by the Supdt. of Police, Motor Transport, Pune & Nagpur. There are 17,080 vehicles in police department in the following categories (Including Mumbai (C).

Special purpose vehicles - 352
Heavy vehicles - 1384
Light vehicles - 1831
Jeeps - 5653
Cars - 764
Motor Cycles - 7096

७) पोलीस बिनतारी संदेश महाराष्ट्र राज्य, या विभागाचे संचालक हे अपर पोलीस महासंचालक या दर्जाचे अधिकारी असून त्यांचे मुख्यालय, पुणे येथे आहे. त्यांचे अधिपत्याखाली एक विशेष पोलीस महानिरीक्षक, पोलीस अधीक्षक मुख्यालय व तीन विभागीय पोलीस अधिक्षकांपैकी पुणे / नागपूर येथे प्रत्येकी एक पोलीस अधीक्षक व मुंबई येथे पोलीस उप आयुक्त या दर्जाचे अधिकारी कार्यरत आहेत. राज्यातील प्रत्येक पोलीस स्थानकास एक जीप देण्यात आलेली असून त्यावर एक बिनतारी संच गस्तीपथकांसाठी बसविण्यात आलेला आहे. गस्ती पथके प्रत्येक लहान व मोठया शहरामध्ये कार्यरत आहेत व त्यांवर सुध्दा बिनतारी संच बसविण्यात आलेले आहेत. तसेच संपर्कासाठी सर्व पोलीस स्थानकांस बिनतारी संच बसविण्यात आलेले पाठविण्यासाठी मुंबई ते सर्व आयुक्तालये / जिल्हे हे डाटा मेसेजिंग सारख्या अत्याधुनिक व जलद यंत्रणेव्दारे जोडण्यात आलेले असून ते व्यवस्थित कार्यरत आहेत.

7) The Directorate of Police Wireless, Maharashtra State is headed by an officer of the rank of Addl. Director General of Police with his Head Quarters at Pune. He is assisted by Spl I.G of Police, Supdt. of Police HQs. and three Zonal Supdt. Of Police each one at Pune, Nagpur as S.P. and at Mumbai as Dy. Commr. of Police. Wireless mobile patrolling is available in all major cities / towns. Over and above this, wireless communication has been provided to all the Police Stations as well as to all mobiles provided to Police Stns. Police Wireless Network has also started using VSAT technology to facilitate better and faster communication among senior police officers all over the state. Presently all wireless messages from Mumbai to all Commissionerates / Districts are passed through ultra modern and fast system such as Data Messaging System.

८) राज्यात एकूण १४ पोलीस प्रशिक्षण केंद्र असून त्या पैकी महाराष्ट्र पोलीस अकादमी, नाशिक ही संचालक तथा विशेष पोलीस महानिरीक्षक यांच्या नियंत्रणाखाली आहे. तेथे पोलीस उप-अधीक्षक व पोलीस उप-निरीक्षक दर्जाच्या अधिका-यांना प्रशिक्षण दिले जाते. या संस्थेच्या आवारात उप संचालक यांच्या नेंतृत्वाखाली गुन्हे प्रकटीकरण प्रशिक्षण केंद्र असून तेथे प्रामुख्याने गुन्हे उघडकीस आणणेबाबत व तपासाबाबत पोलीस अधिकारी व कर्मचा-यांना विशेष प्रशिक्षण दिले जाते. विशेष सुरक्षा प्रशिक्षण शाळा, पुणे येथे महत्वाच्या व्यक्तीचे संरक्षण करण्याकरिता पोलीस दलातील पोलीस अधिकारी व कर्मचाऱ्यांना प्रशिक्षित केले जाते. नव्याने भरती झालेल्या पोलीस शिपायांच्या प्रशिक्षणासाठी राज्यात एकूण १० प्रशिक्षण केंद्र, मरोळ, खंडाळा, नानविज, जालना, सोलापूर, अकोला, नागपूर, बाभूळगाव (लातूर) धुळे आणि तासगांव येथे आहेत. अतिरेकी / दहशतवादी यांना प्रतिबंध करण्याचे विशेष प्रकारचे प्रशिक्षण पोलीसांना अपारंपारिक अभियान प्रशिक्षण केंद्र नागपूर येथे दिले जाते.

8) There are 14 Police Training Centers in the State. Maharashtra Police Academy at Nasik is headed by a Director (Spl IGP.). In this Academy training is imparted to the officers of levels of the Dy. Ss.P. and P.S.Is. In the same premises there is a Detective Training School which imparts specialised training in crime detection and investigation to the officers and employees. Spl. Security Training School in Pune imparts training to the Police officers and employees in V.I.P. Security. There are 10 Regional Police Training Schools at Marol, Khandala, Nanvij, Jalna, Solapur, Akola, Nagpur, Babhulgaon (Latur) Dhule and Tasgaon in which recruited police constables are trained. The Unconventional Operations Training Centre at Nagpur imparts specialised training to officers and employees to deal with extremists / terrorists.

९) महाराष्ट्र राज्य, लाचलुचपत विभागाचे प्रमुख पोलीस महासंचालक दर्जाचे अधिकारी असून त्यांचे मुख्यालय मुंबई येथे आहे. त्यांच्या मदतीस दोन अपर पोलीस महासंचालक दर्जाचे अधिकारी आहेत. ॲन्टीकरप्शन ब्युरो, बृहन मुंबई या परिक्षेत्राचे अपर पोलीस आयुक्त तर ॲन्टी करप्शन ब्युरो, पुणे, नागपूर, अमरावती, औरंगाबाद, नांदेड, नाशिक व ठाणे परिक्षेत्राचे प्रमुख उपआयुक्त / पो. अधीक्षक, दर्जाचे अधिकारी असून त्यांची विभागीय कार्यालये त्या त्या ठिकाणी आहेत.

9) The Maharashtra State Anti Corruption Bureau is headed by Director General of Police with Head Quarters at Mumbai. He is assisted by two Addl. Director General of Police. Anti Corruption Bureau, Brihan Mumbai unit, is headed by Addl. Commissioner of Police. There are 7 regional D.C.P. / Supdt. of Police and their offices are located at Pune, Nagpur, Amravati, Aurangabad, Nanded, Nasik and Thane.

१०) राज्यातील महामार्गावरील वाहतूक सुरळीत ठेवण्यासाठी, अपघातग्रस्तांना मदतीकरिता आणि वाहतुकीच्या सुरक्षे करिता महामार्ग सुरक्षा पथके कार्यान्वित आहेत. महामार्ग सुरक्षा पथकांचे प्रमुख अपर पोलीस महासंचालक, दर्जाचे अधिकारी असून, त्यांचे कार्यालय मुंबई येथे आहे.व महारार्ग सुरक्षा पथकाची विभागीय कार्यालये पुणे, नागपूर, औरंगाबाद व ठाणे येथे असून त्यांचेवर पोलीस अधिक्षक दर्जाचे अधिकारी यांचे नियंत्रण आहे.

10) In order to streamline vehicular traffic,assist persons involved in vehicle accidents, State Highway Safety Patrol Force has been created in Maharashtra State. This unit is headed by a officer of the rank of Addl Director General of Police, State Traffic, Mumbai and he is assisted by the officers of the rank of Supdt. of Police, located at Pune, Nagpur, A'bad and Thane.

११) राज्यात महाराष्ट्र पोलीस निवास व कल्याण महामंडळ असून त्यांचे प्रमुख पोलीस महासंचालक दर्जाचे अधिकारी व्यवस्थापकीय संचालक म्हणून कार्यरत आहेत. या विभागाकडून पोलीस अधिकारी व कर्मचारी यांचेसाठी गृहबांधणी प्रकल्प राबविण्यात येतात.

11) There is a Maharashtra Police Housing and Welfare Corporation. A Director General of Police functions as its Managing Director. The Corporation undertakes construction of office and residential premises for officers and employees all over the state.

१२) पोलीस सेवेत प्रवेश पुढील प्रमाणे मिळविता येतो. संघ लोकसेवा आयोगातर्फे भारतीय पोलीस सेवेतील अधिकारी सरळ सेवेने भरती होतात. तसेच महाराष्ट्र लोकसेवा आयोगातर्फे सरळ सेवा भरतीने पोलीस उप-अधीक्षक व पोलीस उप-निरीक्षक दर्जाच्या अधिका-यांची नेमणूक करण्यात येते. याच आयोगातर्फे पोलीस उप-निरीक्षक या पदाच्या (एकूण पदांच्या ५० टक्के) निवडीची परीक्षाही घेण्यात येते. महाराष्ट्र लोकसेवा आयोगातर्फे पोलीस उप-निरीक्षक या पदाच्या खात्यांतर्गत पदोन्नतीसाठीही परीक्षा घेण्यात येते व ही परीक्षा पास होणा-या पोलीस शिपाई यास पोलीस उप-निरीक्षक या पदावर पदोन्नती देण्यात येते. पोलीस शिपाई या पदाच्या भरतीसाठी कमीत कमी शैक्षणिक पात्रता ही १२ वी (उच्च माध्यमिक शालांत प्रमाणपत्र परीक्षा) उत्तीर्ण अशी ठरविण्यात आली आहे. परंतू नक्षलग्रस्त भागात पुरेसे उमेदवार मिळत नसतील तर १० वी पास (माध्यमिक शालांत प्रमाणपत्र परीक्षा) उत्तीर्ण

झालेले उमेदवार देखील घेता येतात.

12) The following avenues are available for entry into the State Police. There is direct recruitment of I. P. S. Officers by U. P. S. C. The Maharashtra Public Service Commission directly recruits Dy. Ss. P. & P.S.I.s through competitive examination. The direct recruitment of Sub – Inspectors (50 % of the total strength) is also conducted by the M. P. S. C. The Commission also holds competitive examination for departmental candidates for promotion to the rank of Sub- Inspectors. Policemen can also be promoted as Sub-Inspector after passing departmental examination. The minimum educational qualification for recruitment as a police constable is 12th standard (H.S.C. pass). In Naxalite area; if HSC. Passed candidates are not available, S. S. C. passed candidates can also be considered for recruitment.

१३) पोलीस अधिकारी व कर्मचारी यांचे सेवेत असताना जोखमीची कामे करावी लागतात. त्यांच्या सेवेचे विशिष्ठ स्वरूप व जोखीम विचारात घेवून महाराष्ट्र शासनाने महाराष्ट्र राज्य पोलीस दलातील सर्व अधिकारी व कर्मचारी यांना समूह व्यक्तिगत अपघात विमा योजना सन २००२ पासून लागू केली आहे. हा विमा दि ओरिएन्टल ॲश्युरन्स कं.लि. प्रादेशिक कार्यलय, मेफेअर टॉवर्स , पहिला मजला, पुणे मुंबई मार्ग, वाकडेवाडी, शिवाजीनगर, पुणे -४११००५ या कंपनी मार्फत उतरविण्यात आला आहे. सदर विमा योजना ही पोलीस अधिकारी व कर्मचारी हे सेवेत असताना कोणत्याही प्रकारचा रजेवर असताना सुद्धा अपघाती मृत्यू अथवा अपघाताने विशिष्ठ प्रकारचे अपंगत्व आल्यासच लागू होणार आहे.

13) Maharashtra State Police officers and employees have to perfrom risky duties. Keeping in view the risk of the work performed by these officers and employees, the Goverment of Maharashtra has initiated Accident Group Insurance Scheme with effect from 2002. This scheme is insured by The Oriental Assurance Co.Ltd., Regional office Mayfair Tower, 1st floor, Pune Mumbai Road, Wakdewadi, Shivajinager Pune - 411 005. This scheme is applicable to all police officers and employees of Mahrashtra State (including all types of leave period) for any accidental death or disability while in service.

१४) महाराष्ट्र राज्य पोलीस दलातील सर्व पोलीस अधिकारी / कर्मचारी आणि त्यांच्या कुटुंबियांना आंतररूग्णालयीन औषधोपचार विनामूल्य पुरविण्यासाठी **महाराष्ट्र पोलीस कुटूंब आरोग्य योजना** दि. १९ /०३/२००५रोजी सुरू करयात आली आहे.

14) **The Maharashtra Police Family Health Plan** has been started from 19/03/2005, in which all the Maharashtra State Police Officers / employees and their families are provided with free medical aid for indoor hospitalization.

****

ORGANISATIONAL CHART OF MAHARASHTRA STATE POLICE - 2015

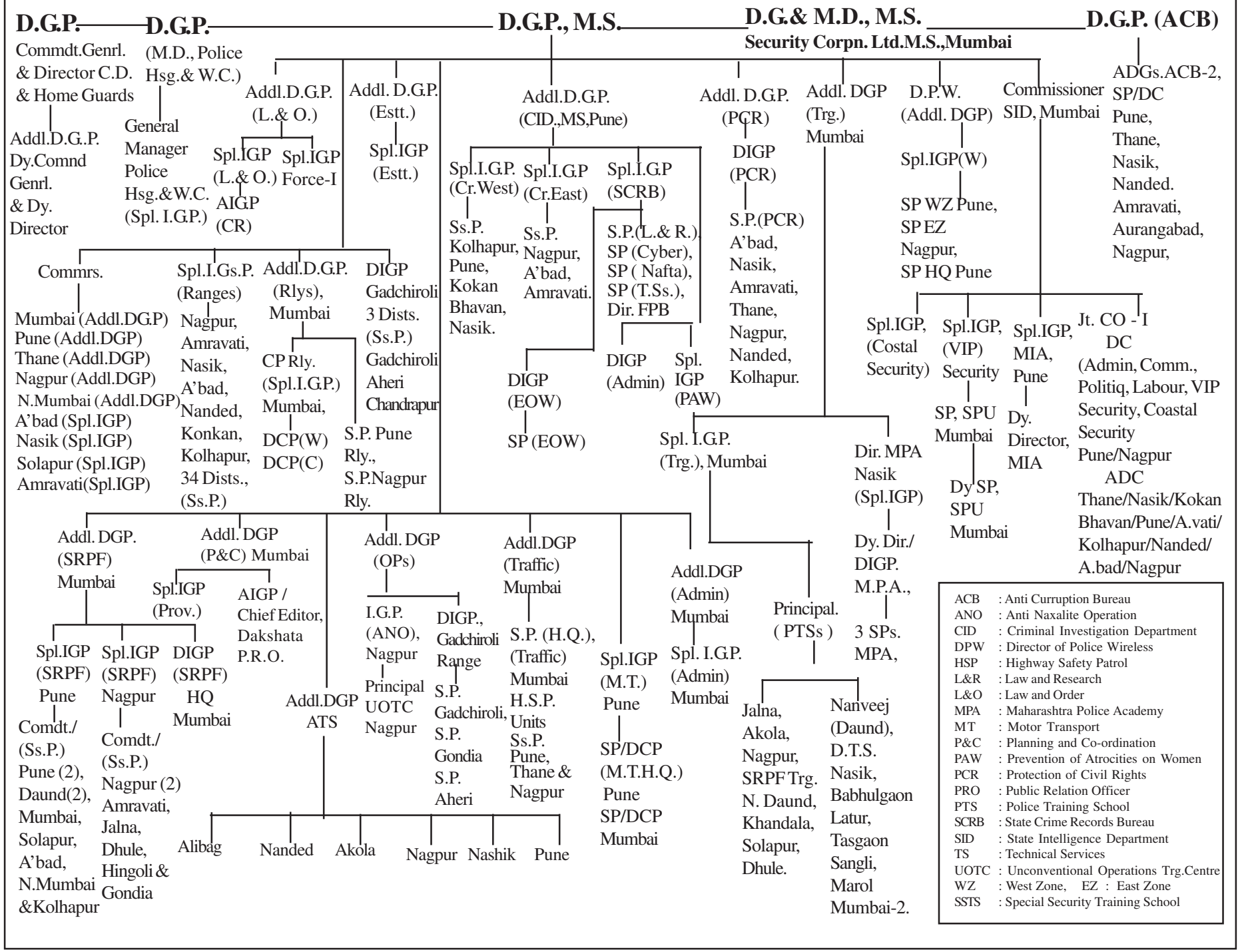

प्रकरण -१

गुन्हे सर्वेक्षण

प्रस्तावना:

कायद्याचे राज्य -

१.१.१ कायद्याची अंमलबजावणी, कायदा व सुव्यवस्था यांची देखभाल, सुरक्षितता, गुन्हयांना प्रतिबंध आणि गुन्हे अन्वेषण ही कामे प्रामुख्याने पोलिसांची आहेत आणि ती पोलीस अधिका-यांना खाली दिलेल्या तीन मुख्य कायद्यानुसार हाताळावी लागतात.

अ) भारतीय दंड विधान संहिता, १८६०

ब) भारतीय पुरावा कायदा, १८७२

क) फौजदारी प्रक्रिया संहिता, १९७३

१.१.२ भारतीय दंड विधान ही सर्वसाधारण दंड संहिता आहे. या कायद्यानुसार विशिष्ट कृत्ये आणि वर्तन दंडनीय ठरतात. भारतात केलेले गुन्हे अथवा देशाबाहेर केलेले गुन्हे परंतु कायद्याने देशात सुनावणी होणारे गुन्हे यांच्याबाबतच्या शिक्षेची तरतूद या कायद्यामध्ये आहे. प्रादेशिक हद्दीच्या बाहेर घडलेल्या गुन्हयांना सदर कायद्याची उपयोजिता लागू पडते. कालानुरूप या कायद्यात वेळोवेळी केलेल्या सुधारणांची आणि खास तरतुदींची भर पडून त्याचा विस्तार झाला आहे.

१.१.३ भारताचा पुराव्याचा कायदा हा एकमेव पुराव्यासंबंधीचा महत्वाचा कायदा असून तो सर्व न्यायालयीन कामकाजास किंवा लष्करी कारवाईस लागू असतो. पुराव्याच्या ग्राह्यतेची व्याप्ती वाढविण्यासाठी या कायद्यात काही सुधारणा करण्यात आल्या आहेत.

१.१.४ फौजदारी प्रक्रिया संहिता १९७३ हा महत्वाचा कायदा असून तो गुन्हे अन्वेषण, न्यायालयीन सुनावणी व अपील यांच्या कामाच्या प्रक्रियेसंबंधी आहे. या कायद्यामध्ये सन १९७३ साली आणि सन २००६ मध्ये मोठया प्रमाणात सुधारणा करण्यात आल्या.

१.१.५ याशिवाय विशिष्ट आवश्यक बाबी विचारात घेऊन, वाढत्या गुन्हेगारीस प्रतिबंध घालण्याची गरज लक्षात घेऊन, अनेकविध नवीन विशेष व स्थानिक कायदे करण्यात आले आहेत. अशा स्थानिक व विशेष कायद्यांचे दोन विभाग केलेले आहेत

१) विशेष कायदा (भादवि कलम ४१ प्रमाणे) ठराविक विषयापुरता मर्यादित.

२) स्थानिक कायदा (भादवि कलम ४२ प्रमाणे) भारताच्या ठराविक भागापुरता मर्यादित.

CHAPTER – 1

CRIME SURVEY

Preface :-

Rule of Law

1.1.1 Law enforcement and management of law and order, security, crime prevention and crime detection are the exclusive responsibilities of the Police. This mandate is primarily governed by the following 3 major laws.

A) The Indian Penal Code (IPC), 1860

B) The Indian Evidence Act, 1872

C) The Code of Criminal Procedure 1973.

1.1.2 The Indian Penal Code is the general penal code. It identifies the commissions and omissions that constitute offences punishable under this Act. It provides punishments for offences committed within India, and punishment for offences committed outside India, but which by law may be tried within India. The applicability of the Act also extends to extra-territorial offences. Over the years, the scope of the Act has been enlarged by amendments and insertions of specific provisions.

1.1.3 The Indian Evidence Act is the single law relating to evidence and applies to all judicial proceedings in any court or court martial. The Act has undergone a few amendments to enhance the scope of admissibility of evidence.

1.1.4 The Criminal Procedure Code 1973 is the major procedural law relating to the conduct of investigation, trial and appeals. This procedural law underwent a major amendment during the year 1973 and recently during 2006.

1.1.5 Apart from the above, there are several Special Laws and Local Laws (SLL) which have been enacted from time to time to meet new challenges to the criminal justice system in specific areas. They are broadly categorised as -

1) Special Laws (vide Section 41 of IPC), which are applicable to particular subjects.

2) Local Laws (vide Section 42 of IPC), which are applicable to particular parts of India.

अपराध आणि गुन्हा

१.१.६ अपराध - (भादंवि कलम ४० प्रमाणे) त्या त्या वेळी अंमलात असलेल्या कायदयान्वये शिक्षापात्र ठरविण्यात आलेली कृती किंवा वर्जन (कृतीचे) दर्शवितो. "गुन्हा" ही संज्ञा सामान्य असून "अपराध" ही त्याचे गभीर स्वरुप दर्शविते.

Offence and Crime

1.1.6 The word Offence (Sec. 40 IPC) denotes any act or omission, made punishable by any law, in force when the act was committed. While the term offence may be specific, the term 'crime' is generic, largely signifying offences which are serious in nature.

दखलपात्र आणि अदखलपात्र गुन्हे

१.१.७ फौजदारी प्रक्रिया संहितेप्रमाणे सर्व गुन्हयांचे दोन प्रकारामध्ये विभाजन केलेले आहे.

१) दखलपात्र गुन्हे (कलम २ (क) फौ. प्र. सं. अन्वये)

२) अदखलपात्र गुन्हे (कलम २ (ल) फौ. प्र. सं. अन्वये)

Cognizable and Non-Cognizable Offences.

1.1.7 The Criminal Procedure Code (Cr.P.C.) divides all offences into two categories.

1) Cognizable offences (vide Sec. 2 (C) Cr.P.C.)

2) Non-cognizable offences (vide Sec.2 (L) Cr.P.C.)

दखलपात्र गुन्हे -

१.१.८ हे गुन्हे पोलिसांकडून हाताळले जातात. अशा प्रकारच्या गुन्हयात पोलीस अधिकारी वॉरंटशिवाय कोणत्याही संबंधित व्यक्तींना अटक करू शकतात. व्यक्तीविरूध्द तक्रार दाखल झाल्यावर किंवा पोलिसांना विश्वसनीय माहिती मिळाल्यावर ताबडतोब कारवाई करणे ही पोलिसांची जबाबदारी आहे. गुन्हा घडलेले ठिकाणास भेट देऊन आणि इतर संबंधित गोष्टींची चौकशी करून गुन्हेगाराला अटक करणे, संबंधित कार्यक्षेत्रातील न्यायालयामध्ये गुन्हेगारांना हजर करणे या बाबी यामध्ये अंतर्भूत आहेत. दखलपात्र गुन्हे हे प्रामुख्याने भा.द.वि. किंवा विशेष व स्थानिक कायद्यांतर्गतचे गुन्हे असतात.

Cognizable Offences.

1.1.8 Such offences may be dealt by the Police and a police officer may arrest a person without a warrant. In such offences, the police has a direct responsibility to take immediate action on receipt of a complaint or credible information, visit the scene of the crime, investigate the facts, apprehend the offender and bring him before a court of law having jurisdiction over the matter. Cognizable offences are broadly categorised as those falling either under the 'Indian Penal Code (IPC)' or under the 'Special and Local Laws (SLL)'.

अदखलपात्र गुन्हे -

१.१.९ अशा प्रकारच्या गुन्ह्यात संबंधित व्यक्तीस परस्पर न्यायालयात प्रकरणाची दाद मागावी लागते. न्यायाधिशाच्या परवानगीशिवाय पोलीस अदखलपात्र गुन्हयाचा तपास करत नाहीत. दंड प्रक्रिया संहितेच्या पहिल्या परिशिष्टात गुन्हयाचे दखलपात्र, अदखलपात्र हे वर्गीकरण दिलेले आहे.

Non-Cognizable Offences

1.1.9 Non-Cognizable offences are those which have to be pursued by the affected parties themselves in Courts. Police do not initiate investigation in non-cognizable offences without magisterial permission. The first schedule of Cr.P.C. gives the classification of the offences under IPC into cognizable & non-cognizable.

१.१.१० दाखल होणा-या विविध गुन्हयांचे वर्गीकरण सांख्यिकी माहितीसाठी, सर्वसाधारणतः खालीलप्रमाणे केले जाते.

1.1.10 Various offences that are being recorded for the Statistical Information System can be broadly grouped under the following categories.

अ)भारतीय दंड विधान या कायद्याखाली येणारे गुन्हे -

१) शरीराविरूध्दचे गुन्हे :- खून, खुनाचा प्रयत्न, सदोष मनुष्यवध, अपहरण व पळवून नेणे, दुखापत, निष्काळजीपणामुळे मृत्यूस कारणीभूत होणे.

२) मालमत्तेबाबतचे गुन्हे :- दरोडा, दरोड्याची तयारी, जबरी चोरी, घरफोडी व चोरी.

३) स्त्रियांवरील अत्याचाराचे गुन्हे :- हुंडाबळी, पती किंवा त्याच्या नातेवाईकांनी केलेला छळ, विनयभंग. बलात्कार, अनैतिक बाबींसाठी मुलींची आयात करणे, स्त्रियांची छेडछाड इ.

४) इतर भा.दं.वि. गुन्हे.

५) सार्वजनिक मालमत्तेविरूध्दचे गुन्हे :- दंगा, जाळपोळ.

६) आर्थिक गुन्हे :- विश्वासघात, फसवणूक, बनावट नाणी, कागदपत्रे इ.

७) बालकांवरील अत्याचाराचे गुन्हे :- बलात्कार, अपहरण व पळवून नेणे, अनैतिक कामासाठी मुलींची खरेदी विक्री, मुलांना टाकून देणे, नवजात शिशूंची हत्या, भृणहत्या.

ब) विशेष व स्थानिक कायद्याखाली येणार गुन्हे

१) शस्त्रांसंबंधी कायदा, १९५९
२) मादक औषधे व अंमली पदार्थाचा कायदा, १९८५
३) जुगारसंबंधी कायदा, १८६७
४) अबकारी कायदा, १९४४
५) दारूबंदी कायदा, १९४९
६) स्फोटक पदार्थासंबंधीचा कायदा, १८८४
७) अनैतिक व्यापार (प्रतिबंध) कायदा, १९५६
८) भारतीय रेल्वे कायदा, १९८९
९) परकीय नागरिक नोंद कायदा, १९३९
१०) नागरी हक्क संरक्षण कायदा, १९५५
११) भारतीय पारपत्र कायदा, १९६७
१२) अत्यावश्यक वस्तूंसंबंधीचा कायदा, १९५५
१३) पुराणवस्तू आणि मौल्यवान कलाकृतीसंबंधी कायदा, १९७२
१४) हुंडा प्रतिबंधक कायदा, १९६१
१५) बालविवाह प्रतिबंधक कायदा, २००६
१६) स्त्रियांचे अश्लिल देहप्रदर्शन (प्रतिबंधक) कायदा, १९८६
१७) प्रकाशन हक्क कायदा, १९५७
१८) लैगिंक अपराधापासून बालकांचे संरक्षक अधिनियम २०१२
१९) अनुसूचित जाती /जमाती अत्याचार प्रतिबंधक कायदा, १९८९

A. Offences under Indian Penal Code (IPC)

1) Offences against Body : Murder, Attempt to Murder, Culpable Homicide not amounting to Murder, Kidnapping & Abduction, Hurt, causing Death by Negligence.

2) Against Property: Dacoity, its preparation assembly, Robbery, Burglary, Theft.

3) Offences Against Women: Dowry Death,Cruelty by Husband or Relatives, Molestation,Rape, Sexual Harassment and Importation of Girls. etc.

4) Other IPC offences.

5) Against Public Property: Riots, Arson.

6) Economic crimes: Criminal Breach of Trust, Cheating, Forgery, Counterfeiting etc.

7) Offences against Children:- Child Rape, Kidnapping & Abduction, Selling / buying of girls for Prostitution, Exposure and Abandonment, Infanticide, Foeticide etc.

B) Offences under the Special & Local Laws

1) Arms Act, 1959
2) Narcotic Drugs & Psychotropic Substances Act,1985
3) Gambling Act, 1867
4) Excise Act, 1944
5) Prohibition Act, 1949
6) Explosives and Explosive Substances Act, 1884
7) Immoral Traffic (Prevention) Act, 1956
8) Indian Railways Act, 1989
9) Registration of Foreigners Act, 1939
10) Protection of Civil Rights Act, 1955
11) Passport Act, 1967
12) Essential Commodities Act, 1955
13) Antiquities & Art Treasures Act, 1972
14) Dowry Prohibition Act, 1961
15) Prohibition of Child Marriage Act, 2006
16) Indecent Representation of Women (Prohibition) Act, 1986
17) Copyright Act, 1957
18) Protection of Child from Sexual Offcence (POCSO) Act, 2012
19) SC/ST (Prevention of Atrocities) Act, 1989

२०) वन कायदा, १९२७
२१) महिलांची कौटुबिक हिंसाचारापासून सं. अधिनियम, २००५
२२) माहिती तंत्रज्ञान अधिनियम, २०००
२३) पर्यावरण (संरक्षण अधिनियम), १९८६
२४) हवा (अशुध्दीकरण प्रतिबंध व नियंत्रण) अधिनियम, १९८१
२५) जल (अशुध्दीकरण प्रतिबंध व नियंत्रण) अधिनियम, १९८८
२६) राष्ट्रीय सुरक्षा कायदा, १९८०
२७) गैर कायद्याची कृत्य (प्रतिबंध) अधिनियम, १९६७
२८) सार्व. संपत्तीस नुकसान व प्रतिबंधक अधिनियम, १९८४
२९) राष्ट्रीय बोध चिन्ह (गैर वापरास प्रतिबंध) अधिनियम, २००५
३०) लॉटरी (नियंत्रण) अधिनियम, १९९८
३१) नागरिकत्व अधिनियम, १९५५
३२) विदेशी व्यक्ती अधिनियम, १९४६
३३) धार्मिक स्थळे (विशेष तरतुद) अधिनियम, १९९१
३४) धार्मिक संस्था (गैरवापरास प्रतिबंध) अधिनियम, १९८८
३५) बालन्याय (मुलांची काळजी व संरक्षण) अधिनियम, २०००
३६) अणु उर्जा अधिनियम, १९६२
३७) गर्भधारणापुर्व व प्रसुतीपुर्व निदान तंत्र (विनियम व दुरूपयोग) अधिनियम, २००३
३८) कार्यालयीन गुप्तता अधिनियम, १९२३
३९) ट्रेडमार्क अधिनियम, १९९९
४०) राष्ट्रीय ध्वज अवमान प्रतिबंध कायदा, १९७१
४१) विदयुत अधिनियम कायदा, २००३
४२) वन्यजीव संरक्षणअधिनियम १९७२
४३) वेठबिगारी पध्दती (रद्द) अधिनियम १९७६
४४) लोकप्रतिनिधीत्व कायदा १९५१
४५) परदेश गमन अधिनियम १९८३
४६) तरुण व्यक्ती हानीकारक प्रकाशन कायदा १९५६
४७) रेल्वे संपत्ती (बेकायदेशीर ताबा) बाबत कायदा १९६६
४८) अपहरण विरोधी अधिनियम १९८२
४९) मानवी अवयवाचे प्रत्यारोपण कायदा १९९४
५०) मोठी हानी घडविणारे शस्त्रास्त्रे (बेकायदा कृत्यास मनाई) प्रतिबंध अधिनियम २००५

20) Forest Act, 1927
21) Protection of Women from Domestic Violence Act, 2005
22) Information Technology Act, 2000
23) Environmental (Protection) Act, 1986
24) Air (Prevn. & Control of Pollution) Act 1981
25) Water (Prevn. & Control of Pollution) Act, 1974
26) National Security Act, 1980
27) Unlawful Activities (Prevention) Act, 1967
28) Prev. of Damage to Public Property Act, 1984
29) State Emblem (Pro. of Improper Use) Act, 2005
30) Lotteries (Regulation) Act, 1998
31) Citizenship Act, 1955
32) Foreigners Act, 1946
33) Place of Worship (Spe. Provisions) Act, 1991
34) Religious Institution (Prev.of Misuse) Act, 1988
35) Juvenile Justice (Care and Prot. of Children) Act, 2000
36) Atomic Energy Act, 1962
37) Infant Substitutes Regulation Act, 2003
38) Official Secrets Act, 1923
39) Trade Marks Act, 1999
40) Prev. of Insults to National Honour Act 1971
41) Electricity Act, 2003
42) Wildlife Protection Act, 1972
43) Bonded Labour System (Abolition) Act, 1976
44) Representation of People Act, 1951
45) Imigration Act, 1983
46) Young Persons (Harmful Publi.) Act, 1956
47) Railway Property (Unlawful Possession) Act, 1966
48) Anti-Hijacking Act, 1982
49) Transplantation of Human Organs Act, 1994
50) Weapons of Mass Destruction (Proh. of Unlawful Activities) Act, 2005

५१) सप्रेशन ऑफ अनलॉफुल ॲक्ट अगेन्स्ट सेफ्टी ऑफ सिव्हील ॲव्हेअेशन १९८२
५२) सेफ्टी ऑफ मेरीटाइम नेव्हीगेशन ॲक्ट २००२
५३) मॅन्युअल स्कॅव्हेनर्ज ॲण्ड कन्स्ट्रक्शन ऑफ ड्राय लॅट्रीनस् (प्रिव्हेनशन) ॲक्ट १९९३
५४) प्रसुतिपुर्व परिक्षण (प्रतिबंध) अधिनियम १९९४
५५) मासेमारी करीता भारताचे समुद्रसीमा ठरविणारा अधिनियम १९८१
५६) इतर विशेष व स्थानिक कायद्याखालील गुन्हे
५७) एकुण दखलपात्र विशेष व स्थानिक कायद्याखालील गुन्हे

51) Suppression of Unlawful Acts against Safety of Civil Aviation Act, 1982
52) Safety of Maritime Navigation Act, 2002
53) Manual Scavengers and Construction of Dry Latrines (P) Act, 1993
54) Pre-Natal Diagnostic Techniques (Reg and Prev of Misuse) Act, 1994
55) The Maritime Zones of India (Reg of Fishing by Foreign Vessels) Act, 1981
56) Other SLL crimes
57) Total Cognizable SLL crimes

* * : १) राज्यात ३६ पोलीस जिल्हे आणि मुंबई रेल्वे आयुक्तालयासह १० पोलीस आयुक्तालये आहेत.

२) **महाराष्ट्रातील गुन्हे-** यामधील सांख्यिकी माहिती महाराष्ट्रातील निरनिराळ्या पोलीस जिल्हयांकडून आणि पोलीस आयुक्तालयांकडून आलेल्या राष्ट्रीय गुन्हे अभिलेख केंद्रास पाठविण्यात येणा-या वार्षिक अहवालातून घेण्यात आलेली आहे.

* *: 1] There are 36 Police Districts and 10 Police Commissionerates in Maharashtra. (including Mumbai Railway Commissionerate)

2] The Source of Statistical Information embodied in this publication, i.e. **"Crime in Maharashtra"** is the data received from Districts / Commissionerates in prescribed proformae (annual basis) for submission to the National Crime Records Bureau, New Delhi.

कायद्याची अंमलबजावणी करणा-या इतर संस्था

१.१.११ पोलिसांव्यतिरिक्त दखलपात्र गुन्हे दाखल करून त्यांचा तपास करणा-या व सर्वसाधारण किंवा विशेष न्यायालयात अहवाल सादर करणा-या काही विशेष तपासी संस्था आहेत. यामध्ये सी.बी.आय, डायरेक्टेरेट ऑफ एन्फोर्समेंट, सेंट्रल बोर्ड ऑफ डायरेक्ट टॅक्सेस, डायरेक्टोरेट ऑफ रेव्हिन्यू इंटेलिजन्स, डायरेक्टोरेट ऑफ प्रिव्हेंटिव्ह ऑपरेशन्स, नारकोटिक कंट्रोल ब्युरो, डायरेक्टोरेट जनरल ऑफ फॉरेनट्रेड, डायरेक्टोरेट ऑफ इन्कम टॅक्स या केंद्रीय संस्थांचा समावेश आहे.

Other Law Enforcement Agencies

1.1.11 There are a number of Central Law Enforcing Agencies characterised as 'Special Investigation Agencies' which also register cognizable crimes, investigate them and place their findings before 'Normal' or 'Special' Courts, for trial. These Agencies include 'The Central Bureau of Investigation' , 'The Directorate of Enforcement', 'The Central Board of Direct Taxes', 'The Directorate of Revenue Intelligence', 'The Directorate of Preventive Operations', 'The Narcotics Control Bureau', 'The Directorate General of Foreign Trade', and 'The Directorate of Income Tax'.

दखलपात्र गुन्हयांची दाखल संख्या :

१.१.१२ २००५ ते २०१५ या दशकात दाखल झालेल्या गुन्हयांची माहिती तक्ता क्र. १ मध्ये दिलेली आहे. २०१५ मध्ये राज्यात एकूण ४२३१८० गुन्हे दाखल झाले असून त्यापैकी २७५४१४ भादंवि अंतर्गत आणि १४७७६६ वि. व स्था. कायद्यांतर्गत गुन्हे दाखल झाले. भादंवि गुन्हे व वि. स्था.का. गुन्हे दोन्हींच्या तुलनेत २००५ (१:०.८), २०१४ (१:०.५) व २०१५ (१:०.५) अशी दिसुन येते. सन २०१४ च्या तुलनेत सन २०१५ मध्ये गुन्हे प्रमाणात वाढ किंवा घट झालेली नाही.

Reported incidences of Cognizable Offences:

1.1.12 The incidences of crime in the State during the decade 2005 to 2015 is presented in Table No. 1. As many as 423180 cognizable crimes have been reported in the State during 2015 . These comprised 275414 cases under the IPC and 147766 cases under the SLL. The ratio of IPC crime to SLL crime steadily decreased from 2005 (1:0.8) to 2014 (1 :0.5), 2015 (1 :0.5). There is neither increase nor decrease (1 :0.5) in the crime rate during 2015 as compared to 2014.

तक्ता क्र. १.१
२०१३ ते २०१५ मध्ये दाखल झालेले दखलपात्र गुन्हे
Table No. 1.1
Cognizable Crimes Registered During 2013 To 2015

YEAR	IPC	SLL	TOTAL	RATIO (IPC:SLL
2013	234385	124124	358509	1 :0.53
2014	249834	134981	384815	1 :0.54
2015	275414	147766	423180	1 :0.54

Chart No-1.1
Percentage share of IPC & SLL crimes during 2015

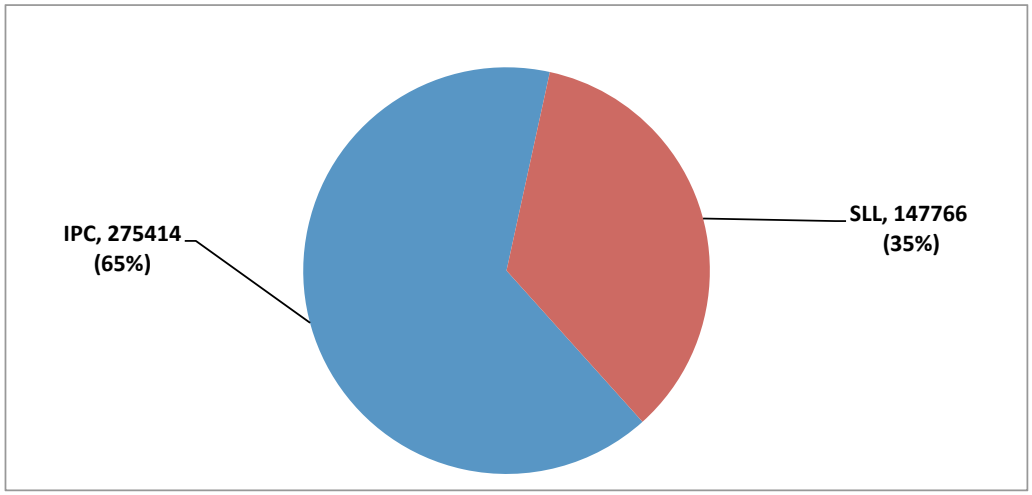

जनसंख्या :

१.२.१ सन २०१५ मधील गुन्हयांचे प्रमाण (गुन्हे प्रति एक लाख जनसंख्या) काढण्यासाठी सन २०११ च्या जनगणनेच्या आधारे अंदाजित लोकसंख्या घेण्यात आली आहे. सन २०१५ मधील महाराष्ट्र राज्याची अंदाजित लोकसंख्या ११९१.४३ लाख इतकी आहे. तर २००५ मध्ये ती १०७३.९४ लाख होती. २००५-२०१५ या दशकामध्ये राज्याच्या लोकसंख्येमध्ये १०.९४% वाढ झाली आहे. वार्षिक लोकसंख्यावाढीचा दर १.२३ % आहे.

Population

1.2.1. Approximately Estimated Population has been taken on the basis of 2011 census for calculating the crime rate, i.e. Crime per Lakh population for 2015. The Approximate estimated population of the Maharashtra State during the year 2015 is 1191.43 Lakhs as compared to 1073.94 lakhs during the year 2005. The population of the State in the decade (2005-2015) has increased by 10.94% on an annual exponential growth rate of 1.23%.

गुन्हयांतील स्थित्यंतरे, महाराष्ट्र राज्यातील एकूण गुन्हे (भादंवि + विशेष स्थानिक कायदे)

गुन्हयांच्या घटना

१.३.१ राज्यात २०१५ मध्ये ४२३१८० दखलपात्र गुन्हे घडले; २०१० च्या तुलनेत २०१५ मध्ये २५.९१% वाढ झाली.

Crime Trend - Total Crimes In Maharashtra State (IPC + SLL)

Crime Incidence

1.3.1 As many as 423180 cognizable crimes have been reported in the State during 2015, i.e. an increase by 25.91% as compared to 2010.

१.३.२ २०१४ च्या तुलनेत २०१५ मध्ये भादंवि गुन्हयांत १०.२३% ने वाढ व विशेष व स्थानिक कायद्याअंतर्गत गुन्हयांत ९.४७% ने वाढ झाल्याचे दिसते.

1.3.2 Reporting of IPC crimes have recorded an increase by 10.23% during 2015 as compared, to 2014 . Correspondingly, reporting of SLL crimes have recorded an Increase by 9.47% as compared to 2014 .

१.३.३ एकूण ४२३१८० गुन्हयांपैकी २७५४१४ (६५.०८%) गुन्हे विविध ३७ जिल्हयांत (मुंबई रेल्वे सह) तर उर्वरित १४७७६६ (३४.९२%) गुन्हे ९ आयुक्तालयांमध्ये घडले आहेत.

1.3.3 Out of the total 423180 (IPC + SLL) cognizable crimes registered in the State during the year 2015, 275414 (65.08%) have been reported in 37 different Districts (including Mumbai Rly.) and the remaining 147766 (34.92%) have been reported in 9 Commissionerates.

गुन्हयांचे प्रमाण

१.४.१ जनसंख्येचा मोठा परिणाम गुन्हे दाखल होण्यावर होतो. गुन्हयांचे प्रमाण (क्राईम रेट) म्हणजे प्रत्येक एक लाख लोकसंख्येमागे दाखल होणारे गुन्हे हे सर्वत्र वस्तुस्थितीदर्शक परिमाण समजले जाते. २०१५ मध्ये राज्यात हे प्रमाण (भादंवि + विशेष स्थानिक कायदे एकत्र) ३५५.२ आहे.

Crime Rate

1.4.1 Population is one of the factors impinging on the incidences of crime. The Crime rate is defined as the incidences of crime per Lakh (1,00,000) population. This is universally taken to be more realistic indicator of criminality. The rate of total cognizable crimes in the State during 2015 was 355.2

१.४.२ सन २०१५ मध्ये (भादंवि+विशेष व स्थानिक कायदे) गुन्हयांचे जिल्हयांतील प्रमाण (९ शहरे वगळून) ३००.३४ आहे तर ९ आयुक्तालयांमध्ये हेच प्रमाण ४९५.२४ आहे. (राज्य गुन्हे प्रमाण ३५५.१९).

1.4.2 The rate of total crimes (IPC + SLL) during 2015 in the Districts (Excluding 9 Cities) is 300.34, whereas in 9 Commissionerates it is 495.24 (State Crime Rate - 355.19).

भा. दं.वि. गुन्हे

१.५.१ २०१५ मध्ये भादंवि चे राज्यात एकूण २७५४१४ गुन्हे दाखल झाले होते, तर २०१४ मध्ये २४९८३४ गुन्हे दाखल झाले. २०१५ मध्ये १०.२४%, इतकी वाढ झाली, २००५ च्या तुलनेत २०१५ मध्ये ४७.३% वाढ झाली तर गेल्या पाच वर्षाच्या सरासरी तुलनेत २५.२% वाढ झाली.

Crime Incidences – IPC

1.5.1 During 2015, 275414 IPC crimes have been reported in the State, as against 249834 during 2014, there is an increase by 10.24% during this year. The decadal variation as compared to 2005 shows an increase by 47.3% and an increase by 25.2% as compared to quinquennial average.

१.५.२ भा.दं.वि. च्या वेगवेगळ्या शीर्षाखाली दाखल झालेल्या गुन्हयांची माहिती तक्ता क्र.२ मध्ये आहे. या तक्त्यात २००५ मध्ये, २०१० ते २०१५ या पाच वर्षांची सरासरी व २०१० मध्ये दाखल झालेल्या गुन्हयांच्या तुलनेत २०१५ मधील दाखल झालेल्या गुन्हयांमधील शेकडा बदलही दर्शविण्यात आला आहे.

1.5.2 The crime head-wise incidences of IPC crime are presented in Table No.2. This table also gives percentage variations during 2015 as compared to 2005, as compared to the quinquennial average (from 2010 - 2015) and as compared to percentage changes in crimes recorded during 2015.

भा.दं.वि. गुन्हयांचे प्रमाण (क्राईम रेट)

१.६.१ २००५ मध्ये गुन्हयांचे प्रमाण १७४.२ होते, २०१५ मध्ये ते २३१.२ पर्यंत गेले. मागील ५ वर्षांच्या सरासरीशी (१८८.६) तुलना करता २०१५ मधील गुन्हे प्रमाणात वाढ आहे. परंतु २०१० पासून गुन्हे प्रमाणात असमानता झालेली आहे.

Crime Rate – IPC

1.6.1 The IPC crime rate during 2005 was 174.2 and 231.2 during 2015. The crime rate during 2015 (231.2) has increased as compared to the quinquennial average (188.6) crime rate. Crime rate is unequal from 2010 onwards.

भा.दं.वि. गुन्हयांची वर्गवारी

१.७.१ २०११ ते २०१५ मध्ये दाखल असलेल्या भादंवि गुन्हयांचे विविध टक्केवारी प्रमाणे वर्गीकरण तक्ता क्र.३ मध्ये दिले आहे.

१.७.२ मागील ३ वर्षांतील (२०१३ - २०१५) हिंसामय गुन्हे मालमत्तेचे गुन्हे, आर्थिक गुन्हे व इतर भादंवि गुन्हे यांच्या वर्गीकरणाची टक्केवारी सर्वसाधारणपणे स्थिर आहे. त्याची माहिती आलेख क्र. १.२ ते १.४ मध्ये आहे.

Crime Pattern (IPC crimes)

1.7.1 The crime head-wise pattern of IPC crimes during 2011 - 2015 is shown in Table No. 3.

1.7.2 During the last 3 years (2013 to 2015), the percentile distribution of various Violent crimes, Property crimes, Economic crimes & other IPC crimes is steady. This is shown in Chart No. 1.2 to 1.4

आलेख क्र. १.२

Chart No. 1.2

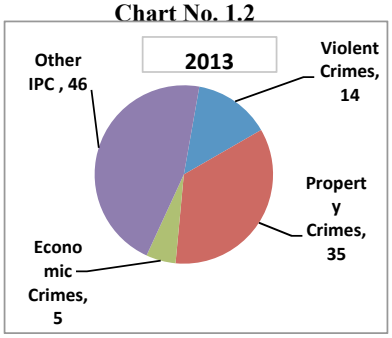

आलेख क्र. १.३

Chart No. 1.3

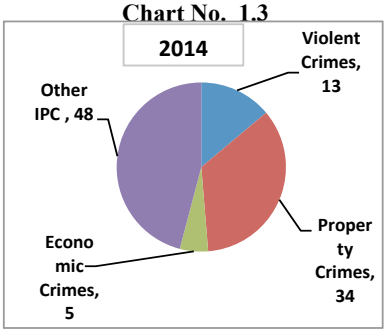

आलेख क्र. १.४

Chart No. 1.4

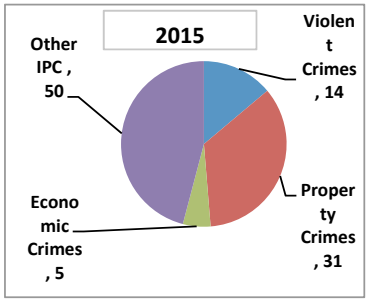

तक्ता क्र. १.२

सन २०१३ ते २०१५ मधील भा.दं.वि. खालील विविध गुन्हयांच्या टक्केवारीची विभागणी

Table No. 1.2

Percentage Distribution Of Various IPC Crimes During 2013-2015

Sr. No.	Crime Distribution	2013	2014	2015
[1]	[2]	[3]	[4]	[5]
1	Violent Crimes	13.9	13.0	13.6
2	Property Crimes	34.8	33.7	31.7
3	Economic Crimes	5.4	5.4	5.0
4	Other IPC	45.9	47.9	49.7

टीप :

१) हिंसामय गुन्हे - खून, खूनाचा प्रयत्न, सदोष मनुष्यवध, हुंडाबळी, बलात्कार, दरोडा, जबरी चोरी, अपहरण आणि पळवून नेणे, दंगा व जाळपोळ.

२) मालमत्तेचे गुन्हे - दरोडा, जबरी चोरी, घरफोडी, चोरी.

३) आर्थिक गुन्हे - अन्यायाने विश्वासघात, ठकबाजी, बनावट नाणी तयार करणे, सांस्कृतिक मूल्य असलेल्या वस्तूंची चोरी.

४) काही गुन्हे शीर्षांची पुनरावृत्ती होत असल्याने टक्केवारी १०० पेक्षा जास्त येते.

Note :

1) Violent Offences = Murder, Attempt to commit Murder,C.H not amounting to Murder, Attempt to commit C.H, Rape, Attempt to commit Rape, Kidnapping & Abduction, Dacoity, Making Preparation & Assembly for committing Dacoity, Robbery, Riots, Arson, Dowry Deaths.

2) Property Offences = Dacoity, Making Preparation & Assembly for committing Dacoity, Robbery, Burglary, Theft.

3) Economic Offences = Criminal Breach of Trust, Cheating, Forgery, Counterfeiting, theft of objects having cultural value.

4) Due to overlapping of some crime heads the percentage exceeds 100.

हिंसामय गुन्हे

१.८.१ सन २०१५ मध्ये ३७२९० हिंसामय गुन्हे दाखल झाले. (भादंवि एकुण गुन्हयांच्या १३.५४%). २०१४ मध्ये ३२५७४ गुन्हे दाखल होते. २०१४ शी तुलना करता २०१५ मध्ये १४.४७% टक्के हिंसामय गुन्ह्यात वाढ झालेली आहे. २०१४ च्या मानाने २०१५ मध्ये हिंसामय गुन्हयांच्या घटना आणि प्रमाणात वाढ झालेली आहे. हिंसामय गुन्हयांचे सविस्तर विश्लेषण हिंसामय गुन्हे या स्वतंत्र, प्रकरणं क्र. ३ मध्ये दिलेले आहे.

Violent Offences

1.8.1 During 2015, 37290 Violent crimes (13.54% of total IPC crimes) have been reported as compared to 32574 during 2014, i.e. increase by 14.47%. The incidences and rate of Violent crime have increased during 2015. Detailed analysis of Violent crimes is presented seperately in Chapter No.3.

मालमत्तेसंबंधी गुन्हे

१.९.१ सन २०१५ सालात या सदराखाली ८७३२९ गुन्हे दाखल झाले आहेत. एकुण भादंवि गुन्हयांपैकी या शीर्षाखाली दाखल झालेल्या गुन्हयांचा वाटा ३१.७% आहे. सन २०१४ मध्ये दाखल झालेल्या गुन्हयांपेक्षा २०१५ मध्ये ३.८% इतकी वाढ झालेली आहे. या संदर्भात सविस्तर विवेचन मालमत्तेचे गुन्हे प्रकरण क्र. ८ मध्ये केले आहे

Property Offences

1.9.1 During 2015, 87329 cases have been reported under this head (31.7% of total crimes under I.P.C.) in the State. There is an an increase by 3.8% as compared to 2014. A detailed analysis of 'Property Crimes' is presented in Chapter No.8.

आर्थिक गुन्हे

१.१०.१ सन २०१५ मध्ये राज्यात या सदराखाली १३७३३ गुन्हे दाखल झाले आहेत. एकुण भादंवि गुन्हयांपैकी या शीर्षाखाली दाखल झालेल्या गुन्हयांचा वाटा ५ % असा आहे. सन २०१४ मध्ये दाखल झालेल्या गुन्हयांशी तुलना करीता २०१५ मध्ये अल्प वाढ झाली आहे. या संदर्भात गुन्ह्यांचे सविस्तर विश्लेषण प्रकरण क्र. ९ मध्ये दिलेले आहे.

Economic Offences

1.10.1 During 2015, 13733 cases have been reported under this head (5.0% of total I.P.C. crimes in the State). There is slightly increase as compared to 2014. A detailed analysis of 'Economic Crimes' is presented in Chapter No. 9.

जिल्हे / आयुक्तालये यामधील भा.दं.वि. गुन्हयांचा कल

१.११.१ सन २०१० ते २०१४ या गत पाच वर्षातील भादंविच्या गुन्हयांची घटक निहाय माहिती तसेच सन २०१५ मधील दाखल झालेल्या गुन्हयांची, सन २०१४ मधील दाखल झालेल्या गुन्हयांशी व गत पाच वर्षातील दाखल गुन्हयांच्या सरासरीशी तुलनात्मक माहिती तक्ता क्र. ४ मध्ये दिली आहे. मुंबई शहर आयुक्तालयात २०१५ मध्ये राज्यातील सर्वात जास्त म्हणजे ४२९४० गुन्हयांची नोंद झाली. (राज्यातील एकुण गुन्हयांच्या १५.५९%). मुंबई शहर, पुणे शहर, पुणे ग्रामीण, ठाणे शहर,यवतमाळ , नागपूर शहर आणि अहमदनगर यामध्ये ८००० पेक्षा जास्त गुन्हे दाखल झाले आहेत. याविषयी सविस्तर आकडेवारी पुढील तक्त्यात दिली आहे.

IPC Crime Trends – Dists./Commrs.

1.11.1 Incidences of total cognizable IPC crimes in the Dists./Commrs. for the quinquennial 2010 to 2014 and the percentage variations of incidence during 2015, as compared to the Q.A. and as compared to 2014 are given in Table No. 4. Mumbai (C) reported the highest incidences with 42940 cases, accounting for 15.59% of the total IPC crimes reported during the year 2015 in the State. Mumbai (C), Pune (C), Pune (R), Thane (C), Yavatmal, Nagpur (C) & Ahmednagar all recorded more than 8000 incidences. Detailed statistics in this regard is given below.

तक्ता क्र. १.३

सन २०१५ मधील विविध घटनांच्या गटाप्रमाणे जिल्हा/आयुक्तालयातील दाखल भा.दं.वि. गुन्हे

Table No. 1.3

Group-Wise Different Incidences Of IPC Crimes In Dists./Commrs. During-2015

Sr.No.	Incidence-Range	Number	Dists./Commrs.
[1]	[2]	[3]	[4]
1	Above 8000 cases	7	Yavatmal, Pune Rural, Nagpur Commr., Ahmednagar, Pune Commr., Thane Commr., Mumbai Commr.
2	6001 to 8000 cases	8	Amravati Rural,Satara,Solapur Rural, Kolhapur, Sangli, Jalgaon,Nasik Rural, Aurangabad Commer.
3	4001 to 6000 cases	15	Akola, Buldhana, Aurangabad Rural, Beed, Nanded, Latur, Chandrapur, Nagpur Rural, Palghar, Navi Mumbai, Amravati Commr, Parbhani, Wardha, Thane Rural, Mumbai (Rly).
4	2001 to 4000 cases	10	Washim,Jalna,Osmanabad,,Bhandara, Dhule, Raigad,Nasik Commr.,Solapur Commr.,Nagpur Rly, Ratnagiri.
5	Below 2000 cases	6	Hingoli, Gadchiroli, Gondia, Nandurbar, Sindhudurg, Pune Railway.
	Total No. of Dists/Commrs.	**46**	

भा.दं.वि. गुन्हयांचे प्रमाण - २०१५

१.१२.१ २०१५ सालात भा.दं.वि. खाली दाखल झालेल्या गुन्हयांची माहिती, लोकसंख्या-निहाय गुन्हयांचे प्रमाण व गुन्हयांची क्रमवारी हया बाबी तक्ता क्र. ५ मध्ये दिल्या आहेत. महाराष्ट्र राज्यातील भादंवि अंतर्गत दाखल गुन्हयांचे प्रमाण (गुन्हे प्रति १ लाख जनसंख्या) २३१.२ असून त्यात अमरावती शहर (५२२.५) नागपूर शहर (४०७.५), औरंगाबाद शहर (४४०.१), मुंबई शहर (३४०.०) व अमरावती ग्रामीण (३३९.२) आणि इतर ०७ ठिकाणी हे प्रमाण राज्य सरासरीपेक्षा जास्त आहे. त्याबाबत सविस्तर माहिती तक्ता क्र. १.४ मध्ये देण्यात आली आहे.

Crime Rate of IPC - 2015

1.12.1 Incidences of total cognizable IPC crimes registered during 2015 with its population-wise crime rate and its unit rank, are presented in Table No. 5. The IPC crime rate of the State during 2015 was 231.2**.** Amravati (C) (522.5), Nagpur (C) (407.5), , Aurangabad (C) (440.1), Mumbai (C) (340.0), Amravati (R) (339.2) and other 07 Units have a crime rate above the State Average. The details are given in Table No.1.4.

आलेख क्र. १.५

सन २०१५ मधील भा.दं.वि. गुन्हयांचे जिल्हा/आयुक्तालय निहाय प्रमाण

(दर १ लाख लोकसंख्येशी)

Chart No 1.5

Rate Of Ipc Crime In Dists. / Commrs. During 2015 (Per 1 Lakh Population)

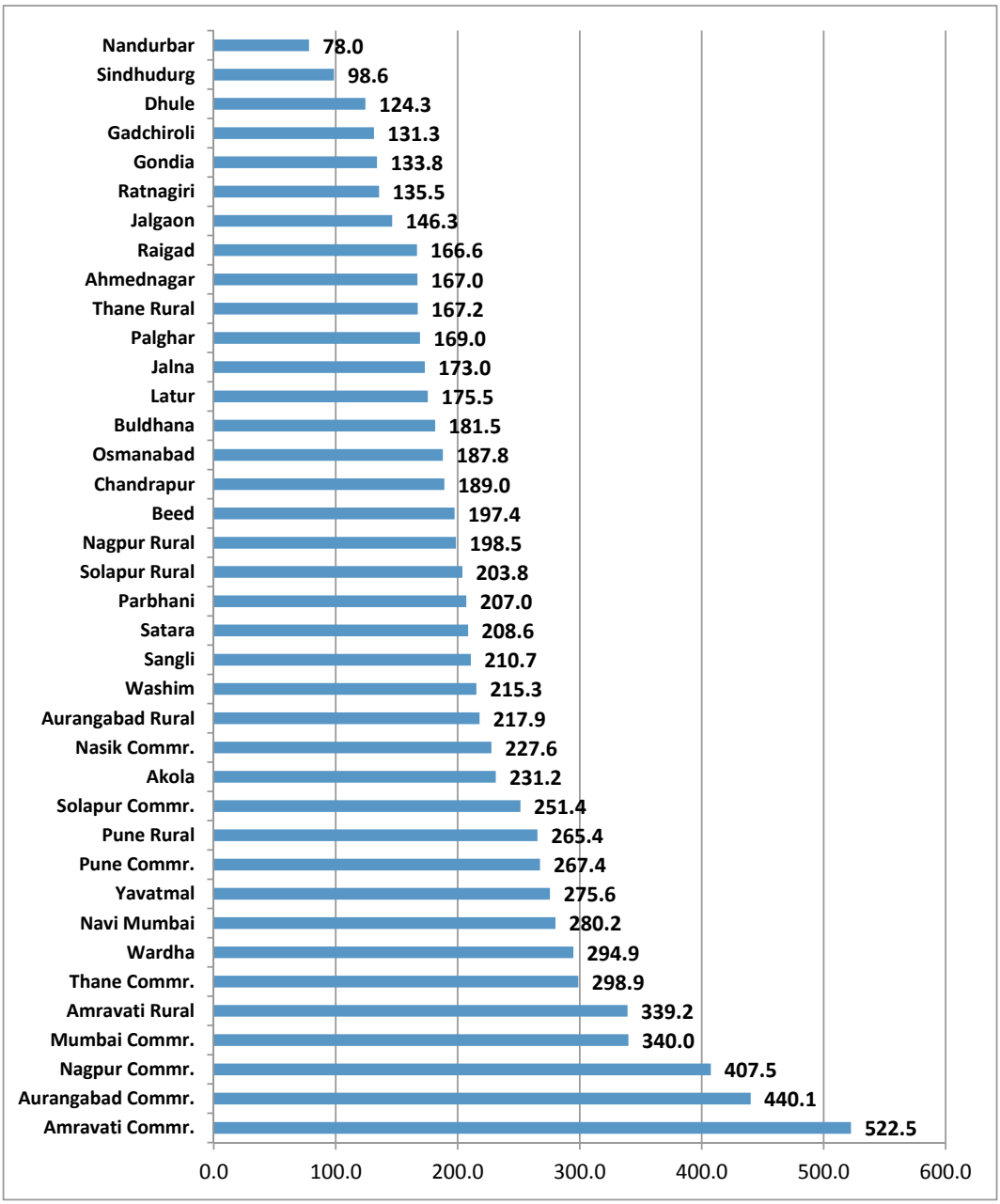

आलेख क्र. १.६

सन २०१५ मधील भा.दं.वि. तसेच विशेष व स्थानिक कायदयांतर्गत दाखल गुन्हयांची परिक्षेत्र / आयुक्तालय - निहाय टक्केवारी

Chart No 1.6

Range/Commrs.-Wise Percentage Contribution To Total

Cognizable Crime Under IPC+SLL During 2015

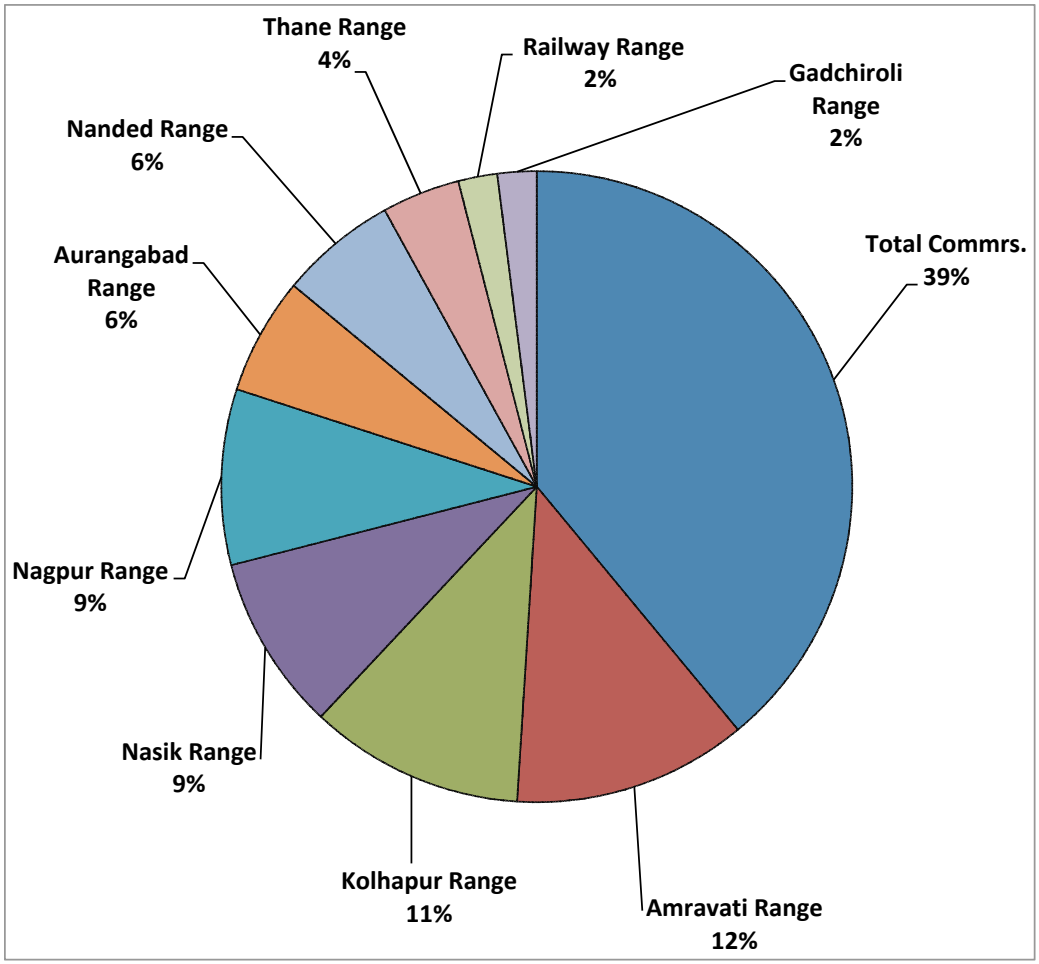

आयुक्तालयाकडील गुन्ह्यांची स्थित्यंतरे (कल)

१.१३.१ एकुण गुन्हे (भा.दं.वि. + विशेष व स्थानिक कायदे), गुन्ह्यांची आकडेवारी व कल यांच्या परीक्षणासाठी महाराष्ट्र राज्यातील ९ मोठ्या शहरांचा (मुंबई रेल्वे आयुक्तालय वगळून) स्वतंत्र गट केला आहे. २०१५ मध्ये राज्यातील एकुण दाखल ४२३१८० (भा.दं.वि. + वि.व स्था.का.) दखलपात्र गुन्ह्यांपैकी १६६०४९ म्हणजे ३९.२३% गुन्हे उपरोक्त ९ आयुक्तालयांत दाखल झाले आहेत.

Crime Trends-Commissionerates

1.13.1 In order to assess the crime situation and its trends in the large cities of the State, 9 Commissionerates [excluding Mumbai Rlys] are separately grouped for survey. It is observed that during 2015 out of total 423180 cognizable crimes (IPC + SLL) reported in the State, 166049 cases constituting 39.23% have been reported in the 9 Commissionerates.

तक्ता क्र. १.४

सन २०१५ मधील भा.द.वि. गुन्हयांचे जिल्हा / आयुक्तालयनिहाय प्रमाण (दर एक लाख लोकसंख्येशी)

(राज्याचे प्रमाण :२३१.२)

Table No. 1.4

Rate of IPC Crimes In Districts/ Commrs. During 2015 (Per 1 Lakh Population)

(State Average :231.2)

Dists./Commrs. with Crime Rate (Total IPC Crimes) above State average			Dists./Commrs. with Crime Rate (Total IPC Crimes) below State average		
Sr. No.	Dists./Commrs.	Rate	Sr. No.	Dists./Commrs.	Rate
[1]	[2]	[3]	[4]	[5]	[6]
1	Amaravati Commr.	522.5	1	Akola	231.1
2	Aurangabad Commr.	440.1	2	Nasik Commr.	227.6
3	Nagpur Commr.	407.5	3	Aurangabad Rural	217.9
4	Mumbai Commr.	340.0	4	Washim	215.3
5	Amravati Rural	339.2	5	Sangli	210.7
6	Thane Commr.	298.9	6	Satara	208.6
7	Wardha	294.9	7	Parbhani	207.0
8	Navi Mumbai	280.2	8	Solapur Rural	203.8
9	Yavatmal	275.6	9	Nagpur Rural	198.5
10	Pune Commr.	267.4	10	Beed	197.4
11	Pune Rural	265.4	11	Chandrapur	189.0
12	Solapur Commr.	251.4	12	Osmanabad	187.8
			13	Buldhana	181.5
			14	Latur	175.5
			15	Jalna	173.0
			16	Palghar	169.0
			17	Thane Rural	167.2
			18	Ahmednagar	167.0
			19	Raigad	166.6
			20	Bhandara	158.6
			21	Nanded	157.1
			22	Hingoli	153.6
			23	Nasik Rural	151.9
			24	Kolhapur	148.2
			25	Jalgaon	146.3
			26	Ratnagiri	135.5
			27	Gondia	133.8
			28	Gadchiroli	131.3
			29	Dhule	124.3
			30	Sindhudurg	98.6
			31	Nandurbar	78.0

आलेख क्र. १.७

सन २०१५ मध्ये आयुक्तालयातील भा.दं. वि. तसेच विशेष व स्थानिक कायदयांतर्गत दाखल गुन्हयांची टक्केवारी

Chart No. 1.7

Percentage Distribution Of IPC + SLL Crimes In Commissionerates During 2015

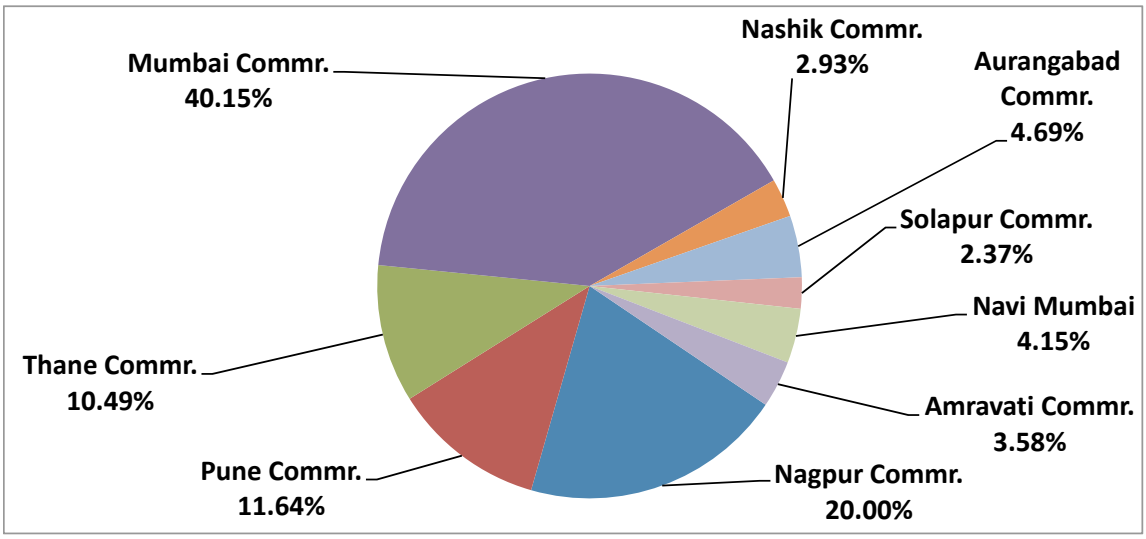

१.१३.२ २०१५ मध्ये ९ आयुक्तालयात एकुण (भादंवि + विशेष व स्थानिक कायदा) दाखल गुन्हयांचे प्रमाण ४९५.२४ आहे. जिल्हयांबाबत (९ शहरे वगळून) हेच प्रमाण ३००.३४ आहे आणि राज्य स्तरावर ३५५.१९ असे आहे.

1.13.2 During 2015 the crime rate for the total cognizable crimes (IPC + SLL) in the 9 Commissionerates is 495.24 as against 300.34 in Dists. (Excluding 9 cities) and the State average of 355.19

भा.दं.वि गुन्हे

१.१४.१ २०१५ मध्ये ९ आयुक्तालयांमधील (मुंबई रेल्वे आयुक्तालय वगळून) १०८५८६ दाखल गुन्हयांपैकी फक्त मुंबई शहरात ४२४९० (३९.५४%) गुन्हे दाखल झाले आहेत. त्यानंतर अनुक्रमे पुणे शहर (१५३४९), ठाणे शहर (१५२०४), पुणे ग्रामीण (११८०३) आणि नागपूर शहर (११०१८) या शहरांचा क्रमांक लागतो.

IPC Offences

1.14.1 During 2015, 108586 cases have been reported in the 9 Commissionerates (excluding Mumbai Rly.), 42940 (39.54%) are reported in Mumbai (C) alone. Next in order of volume are Pune (C) (15349), Thane (C) (15204) Pune Rural (11803) and Nagpur (C) (11018).

तक्ता क्र. १.५

सन २०१५ मधील घटनांच्या गटाप्रमाणे आयुक्तालयातील दाखल भा.दं.वि. गुन्हे

Table No. 1.5

Group-Wise Different Incidences Of IPC Crimes In Commissionerates During 2015

Sr. No.	Range of Incidence	Commissionerates & Incidence
1	8000 & above	Nagpur Commr.(11018), Pune Commr. (15349), Thane Commr.(15204), Mumbai Commr.(42940)
2	6001 to 8000	Aurangabad Commr.(7051)
3	4001 to 6000	Navi Mumbai(5990), Amravati Commr. (4488)
4	2001 to 4000	Nasik Commr.(3963), Solapur Commr.(2583).
5	Below 2000	NIL

गुन्ह्याचे प्रमाण :

१.१५.१ आयुक्तालयांमध्ये उच्चतम प्रमाण अमरावती शहर (५२२.७) असून त्या पाठोपाठ औरंगाबाद (४४०.१) व नागपूर शहर (४०७.४७) अशी क्रमवारी आहे.

१.१५.२ राज्य सरासरीपेक्षा कमी / जास्त गुन्हे असलेल्या आयुक्तालयांतर्गत क्रमवारी पुढील तक्त्यात दिली आहे.

Crime Rate :

1.15.1 Amongst the Commissionerates, Amravati (C) recorded highest IPC crime rate (522.7), followed by Aurangabad (C) (440.1) and Nagpur (C) (407.47).

1.15.2 The inter-se ranking of various Commissionerates, above and below the State average is presented in the following table.

तक्ता क्र. १.६

सन २०१५ मधील आयुक्तालय - निहाय भा.दं.वि. गुन्हे प्रमाण (दर १ लाख लोकसंख्येशी)

(राज्याचे प्रमाण २३१.२)

Table No. 1.6

Rate of Total IPC Crimes in Commissionarates During 2015 (Per 1 Lakh Population)

(State Average 231.2)

Commrs. with Crime Rate above State average			Commrs.with Crime Rate below State average		
Sr. No.	Commissionerates	Rate	Sr. No.	Commissionerates	Rate
[1]	[2]	[3]	[4]	[5]	[6]
1	Amravati Commr.	522.5	1	Nasik Commr.	227.6
2	Aurangabad Commr.	440.1			
3	Nagpur Commr.	407.5			
4	Mumbai Commr.	.340.0			
5	Thane Commr.	298.9			
6	Navi Mumbai	280.2			
7	Pune Commr.	267.4			
8	Solapur Commr.	251.4			

भा.दं.वि.अंतर्गत गुन्हयांचा घटकनिहाय कल

१.१६.१ २०१५ सालातील भा.दं.वि. अंतर्गत दाखल गुन्हे व त्याचे प्रमाण जिल्हा / आयुक्तालय निहाय तक्ता क्र. ६अ मध्ये दर्शविले आहे. २०१४ चे तुलनेत २०१५ मधील बदलाची माहिती तक्ता क्र. ७ मध्ये दिली आहे. प्रत्येक शीर्षाखाली गुन्हयांचे विश्लेषण यापुढे दिले आहे.

Unit-Wise Trend Of IPC Crimes

1.16.1 The Dist. & Commr.-wise incidences of various IPC crimes along with the crime rate for 2015 is shown in Table No. 6A. The comparative crime statistics relating to incidences during 2014 and 2015 under various crime-heads and the percentage variations during 2015 as compared to 2014 is presented in Table No.7. Incidences under individual crime heads are analysed below.

खून

१.१६.२ सन २०१५ मध्ये राज्यात एकूण २५०९ खुनाचे गुन्हे दाखल झाले आहेत. २०१५ मधील दाखल झालेल्या गुन्हयांची तुलना सन २००५ सालात दाखल झालेल्या गुन्हयांशी केली असता ४.३% ने घट झाली आहे. गेल्या ५ वर्षात दाखल झालेल्या गुन्हयांच्या सरासरीशी तुलना करता ६.८% ने घट झाली आह, सन २०१४ शी तुलना करता ६% ने घट झाली आहे. २०१५ मध्ये सर्वात जास्त गुन्हे मुंबई शहर (१६९) दाखल झाले असून त्या खालोखाल पुणे ग्रामीण (१६७), पुणे शहर (१२५), अहमदनगर (१११) व नाशिक ग्रामीण (१०४) असे दाखल झाले आहेत. २०१५ मध्ये दाखल झालेल्या गुन्हयांपैकी या ५ घटकांमधील दाखल झालेल्या गुन्हयांचा वाटा २६.९४ % आहे. पुणे रेल्वे या घटकामध्ये सर्वात कमी ५ गुन्हे दाखल झाले आहेत व या गुन्हे शीर्षाखाली सर्वात जास्त गुन्हे दाखल होण्याचे प्रमाण गडचिरोली (४.५५), पुणे ग्रामीण (३.७५), नागपुर शहर (२.९२), पालघर (२.९१), व अमारावती शहर (२.७९). नागपुर रेल्वे, नाशिक शहर, भंडारा, वर्धा आणि हिंगोली या घटकांमध्ये २०१४ च्या तुलनेत २०१५ मध्ये लक्षणीय वाढ झाल्याचे दिसुन येते.

Murder

1.16.2 The total number of murders registered in the State during 2015 are (2509). This indicates 4.3% decrease as compared to 2005, 6.8% decrease as compared to Q.A., and 6.0% decrease as compared to 2014. Highest number of murders during 2015 have been reported in Mumbai (C) (169) followed by Pune (R) (167), Pune (C) (125), Ahmednagar (111) Nasik Rural (104). These five Units contributed 26.94% of murders registered in the State. Pune Rly registered the Lowest number of Murders, i.e. 5. The highest crime rate has been reported in Gadchiroli (4.55), Pune Rural (3.75), Nagpur (C) (2.92), Palghar (2.91) & Amravati (C) (2.79). Nagpur (Rly), Nasik Commr., Bhandara, Wardha & Hingoli have shown a significant increase in the incidences of murder during 2015 as compared to 2014.

दरोडा

१.१६.३ सन २०१५ मध्ये राज्यात एकूण ७८४ दरोडयाचे गुन्हे दाखल झाले आहेत. २०१५ मधील दाखल झालेल्या गुन्हयांची तुलना सन २००५ सालात दाखल झालेल्या गुन्हयांशी केली असता २२.३% ने वाढ झाली आहे. गेल्या ५ वर्षात दाखल झालेल्या गुन्हयांच्या सरासरीशी तुलना करता ३.५% ने घट झाली आहे. सन २०१४ शी तुलना करता ११.४% ने घट झाली आहे. २०१५ मध्ये सर्वात जास्त गुन्हे अहमदनगर (६३), पुणे ग्रामीण (५०), मुंबई शहर (४८), पुणे शहर (४०) व सातारा (४०) या घटकांत दाखल झाले आहेत. २०१५ मध्ये दाखल झालेल्या गुन्हयांपैकी या ५ घटकांमधील दाखल झालेल्या गुन्हयांचा वाटा ३१.५० % आहे. सर्वात कमी गुन्हे गोंदिया (०), भंडारा (०), सिंधुदुर्ग (१), अमरावती शहर(१) व वर्धा (२) या घटकामध्ये दाखल असून, दर १ लाख लोकसंख्येमागे या गुन्हे शीर्षाखाली सर्वात जास्त गुन्हे दाखल होण्याचे प्रमाण औरंगाबाद शहर (१.६९), सातारा (१.२६), अहमदनगर (१.३१), वाशिम (१.१७) व बीड १.१५) या घटकांचा क्रमांक लागतो. या सदराखाली हिंगोली, वाशिम, रत्नागिरी, अमरावती ग्ामीण व रायगड या घटकांमध्ये २०१४ च्या तुलनेत २०१५ मध्ये लक्षणीय वाढ झाल्याचे दिसुन येते

Dacoity

1.16.3 During 2015, 784 dacoities have been registered in the State, which is 22.3% increase as compared to 2005, 3.5% decrease as compared to the Q.A., and 11.4% decrease as compared to 2014. Highest number. of dacoities during 2015 have been reported in Ahmednagar (63) , Pune (R) (50), Mumbai (C) (48), Pune (C) (40) & Satara(40). These five Units contributed 31.50% of dacoities registered in the State. Under this head Gondia (0), Bhandara (0), Sindhudurg (1) Amravati (C) (1), Wardha (2) has registered lowest cases. The highest crime rate has been reported in Aurangabad (C) (1.69), Satara (1.26), Ahmednagar (1.31), Washim (1.17), Beed (1.15). Hingoli, Washim, Ratnagiri, Amravati Rural & Raigad have shown significant increase in the incidences of dacoities during 2015 as compared to 2014.

जबरी चोरी

१.१६.४ सन २०१५ मध्ये या शीर्षाखाली राज्यात एकूण ८५६१ गुन्हे दाखल झाले आहेत. २०१५ मधील दाखल झालेल्या गुन्हयांची तुलना सन २००५ सालात दाखल झालेल्या गुन्हयांशी केली असता २५५.१% ने वाढ झाली आहे. गेल्या ५ वर्षात दाखल झालेल्या गुन्हयांच्या सरासरीशी तुलना करता २५.४% ने वाढ झाली आहे. सन २०१४ शी तुलना करता ९.६% ने घट झाली आहे. २०१५ मध्ये सर्वात जास्त गुन्हे मुंबई शहर (१७०८) दाखल झाले असून त्या खालोखाल ठाणे शहर (१२०२), पुणे शहर (७३१), मुंबई रेल्वे, (५३१) व नागपूर शहर (४६४) असे दाखल झाले आहेत. २०१५ मध्ये दाखल झालेल्या गुन्हयांपैकी या ५ घटकांमधील दाखल झालेल्या गुन्हयांचा वाटा ५४.१५ % आहे. गडचिरोली या घटकामध्ये सर्वात कमी ८ गुन्हे दाखल झाले असून त्या खालोखाल सिंधुदुर्ग (१६) गोंदिया (२१), हिंगोली (२१) व भंडारा (२१) या घटकांमध्ये दाखल झाले आहेत. दर १ लाख लोकसंख्येमागे गुन्हे प्रमाण ठाणे शहर (२३.६३) असून त्याखालोखाल नागपूर शहर (१७.१६), नवी मुंबई (१४.६४), मुंबई शहर (१३.५२) व पुणे शहर (१२.७४) या घटकांचा क्रमांक लागतो. सन २०१४ च्या तुलनेत सन २०१५ मध्ये औरंगाबाद ग्रामीण, नुदंरबार, नाशिक शहर, पुणे रेल्वे व अमरावती शहर या घटकांत गुन्हयांच्या संख्येत लक्षणीय वाढ झाली आहे.

Robbery

1.16.4 During 2015, 8561 robberies have been registered in the State, which is 255.1% increase as compared to 2005, 25.4% increase as compared to Q.A., and 9.6% decrease as compared to 2014. Highest number of robberies during 2015 have been reported in Mumbai (C) (1708) followed by Thane (C) (1202), Pune (C) (731),Mumbai Rly (531) and Nagpur (C) (464). These five Units contributed 54.15% of robberies registered in the State. Gadchiroli registered the lowest robberies, i.e. 8 cases, followed by Sindhudurg (16), Gondia (21), Hingoli (21), Bhandara (21). The highest crime rate has been reported in Thane (C) (23.63), Nagpur (C) (17.16), Navi Mumbai (14.64), Mumbai (C) (13.52) and Pune (C) (12.74). Aurangabad (R), Nandurbar, Nasik (C) Pune(Rly) & Amravati (C) have shown a significant increase in the incidences of robberies during 2015 as compared to 2014.

घरफोडी

१.१६.५ २०१५ मध्ये घरफोडीचे एकूण १६५८१ गुन्हे दाखल झाले आहेत. २०१५ मधील दाखल झालेल्या गुन्हयांची तुलना सन २००५ सालात दाखल झालेल्या गुन्हयांशी केली असता ६.२% ने वाढ झाली आहे. गेल्या ५ वर्षात दाखल झालेल्या गुन्हयांच्या सरासरीशी तुलना करता १.४% ने घट झाली आहे. सन २०१४ शी तुलना करता ३.४% ने घट झाली आहे. २०१५ मध्ये सर्वात जास्त गुन्हे मुंबई शहरात (३०१०) दाखल झाले असून त्या खालोखाल ठाणे शहर (१६१९), पुणे शहर (११९४), नागपूर शहर (१०७९) व पुणे ग्रामीण (६४७) असे दाखल झाले आहेत. २०१५ मध्ये दाखल झालेल्या गुन्हयांपैकी या ५ घटकांमधील दाखल झालेल्या गुन्हयांचा वाटा ४५.५२ % आहे. पुणे रेल्वे (१) मुंबई रेल्वे (२) व नागपूर रेल्वे (३), नंदुरबार (७०) व सिंधुदंर्ग (८५) या घटकामध्ये सर्वात कमी गुन्हे दाखल झाले आहेत. या सदराखाली औरंगाबाद ग्रामीण, हिंगोली, औरंगाबाद शहर, बुलडाणा व नागपूर ग्रामीण या घटकांमध्ये २०१४ च्या तुलनेत २०१५ मध्ये लक्षणीय वाढ झाल्याचे दिसून येते. सर्वात जास्त गुन्हे प्रमाण नागपूर शहर (३९.९०) असून त्याखालोखाल ठाणे शहर (३१.८३), नवी मुंबई (२८.४८) व जळगांव (५.१३) या घटकांचा क्रमांक लागतो. सर्वात कमी गुन्हे प्रमाण नंदुरबार (३.९३) या घटकात आहे.

Burglary

1.16.5 16581 cases of HBTs have been reported in the State during 2015. This indicates an increase by 6.2% as compared to 2005, 1.4% decrease as compared to Q.A. & decrease by 3.4% as compared to 2014. The highest number of cases have been reported in Mumbai (C) (3010) followed by Thane (C) (1619), Pune (C) (1194), Nagpur (C) (1079) and Pune (R) (647). These five Units contributed 45.52% of all the burglary cases. Minimum cases have been reported in Pune Rly (1) followed by Mumbai (Rly) (2), Nagpur Rly (3), Nadurbar(70), Sindhudurg (85). Aurangabad (R), Hingoli, Aurangabad (C), Buldhana, Nagpur (R) shown significant increase during 2015 as compared to 2014. During 2015 the highest burglary rate in the State was in Nagpur (C) (39.90), followed by Thane (C) (31.83), Navi Mumbai (C) (28.48) and Jalgaon (5.13) Lowest crime rate was reported in Nandurbar (3.93).

चोरी

१.१६.६ राज्यात २०१५ मध्ये चोरीचे ६११२८ गुन्हे दाखल आहेत. २००५ च्या तुलनेत ३०.५% वाढ झाली आहे. मागील पंचवार्षिक सरासरीचे तुलनेत १६.५% वाढ आणि २०१४ च्या तुलनेत ८.६% वाढ झाली. सर्वाधिक गुन्हे मुंबई शहर (१०४२२) त्यापाठोपाठ पुणे शहर (५०३७), ठाणे शहर (३५२६), नागपूर शहर (३०४४) व मुंबई रेल्वे (३२८५) असे दाखल झाले. राज्यातील एकुण दाखल गुन्हयांच्या ४१.६१% वाटा वरील नमूद ५ शहरांचा आहे. सर्वात कमी गुन्हे सिंधुदुर्ग येथे (१२०) दाखल झालेले आहेत. त्या खालोखाल गडचिरोली (१३५), हिंगोली (१५३), नंदुरबार (२०७) व गोंदिया (३१०) या घटकांत दाखल झालेले आहेत. औरंगाबाद शहर, मुंबई रेल्वे, अमरावती शहर, रत्नागिरी व रायगड येथे २०१४ च्या तुलनेत २०१५ मध्ये दाखल गुन्हयांत लक्षणीय वाढ झालेली आहे. सर्वोच्च गुन्हे प्रमाण औरंगाबाद शहर (१३८.५८) त्यापाठोपाठ अमरावती शहर (१३८.०७), नागपूर शहर (११२.५७), पुणे शहर (८७.७५) व मुंबई शहर (८२.५२) येथे आहे.

Theft

1.16.6 61128 Theft cases have been reported in the State during 2015. 30.5% an increase during 2015 as compared to 2005, 16.5% increase as compared to Q.A., 8.6% increase as compared to 2014. The highest number of cases have been reported in Mumbai (C) (10422), followed by Pune (C) (5037),Thane (C) (3526), Nagpur (C) (3044) and Mumbai (Rly) (3285). These five units contributed 41.61% of all the thefts reported in the State. The lowest number of cases have been reported in Sindhudurg (120) Gadchiroli (135) followed by Hingoli (153), Nandurbar (207) & Gondia (310). Aurangabad (C), Mumbai (Rly), Amravati (C), Ratnagiri & Raigad have shown significant increase during 2015 as compared to 2014.The highest theft rate, i.e. , Aurangabad (C) (138.58) followed by Amaravati (C) (138.07), Nagpur (C) (112.57) Pune (C) (87.75) and Mumbai (C) (82.52).

अन्यायाने विश्वासघात

१.१६.७ २०१५ मध्ये २०४२ गुन्हे दाखल झाले आहेत. २००५ च्या तुलनेत १८.७% वाढ झाली आहे. मागील पंचवार्षिक सरासरीचे तुलनेत ३.२% वाढ आणि २०१४ च्या तुलनेत ४.३% वाढ झाली. सर्वाधिक गुन्हे मुंबई शहर (७६१) त्यापाठोपाठ पुणे शहर (१०८), ठाणे शहर (१०७), जळगाव (८३) व नागपूर शहर (७३) असे दाखल झाले. राज्यातील एकुण दाखल गुन्हयांच्या ५५.४% वाटा वरील नमूद ५ शहरांचा आहे. राज्यात सर्वात कमी गुन्हे यवतमाळ (१), दाखल झाले असून त्या खालोखाल पुणे रेल्वे (१), गडचिरोली (५), नंदुरबार (६) व मुंबई रेल्वे (६) असे दाखल झाले आहेत. नागूपर रेल्वे, औरंगाबाद शहर, सोलापुर शहर, रायगड व वाशिम येथे २०१४ च्या तुलनेत २०१५ मध्ये दाखल गुन्हयात लक्षणीय वाढ झालेली आहे. सर्वोच्च गुन्हे प्रमाण मुंबई शहर (६.०३) त्यापाठोपाठ नवी मुंबई (३.३२) व औरंगाबाद शहर (३.५०) येथे आहे.

Criminal Breach of Trust

1.16.7 2042 CBT cases have been reported in the State during 2015**.** Percentage change during 2015 as compared to 2005 shows an increase by 18.7%, 3.2% increase as compared to Q.A., 4.3% increase as compared to 2014**.** The highest number of cases have been reported in Mumbai (C) (761) followed by Pune (C)(108), Thane (C) (107), Jalgaon (83) and Nagpur (C) (73)**.** These five units contributed 55.4% of all the CBT cases reported in the State**.** In the state minimum cases have been reported inYavatmal (1) followed by Pune Rly (1) Gadhchiroli (5), Nadurbar(6), Mumbai Rly (6)**.** Nagpur (Rly), Aurangabad (C), Solapur (C), Raigad & Washim have shown significant increase during 2015 as compared to 2014**.** Mumbai (C) had the highest CBT rate, i.e. (6.03), followed by Navi Mumbai (3.32) and Aurangabad (C) (3.50)**.**

ठकबाजी

१.१६.८ २०१५ सालात या शीर्षाखाली एकूण १०४९० गुन्हे दाखल झाले. २०१५ मध्ये २००५ च्या तुलनेत ६४.१% वाढ झाली, गत पंचवार्षिक सरासरीचे तुलनेत १०.८% वाढ झाली. २०१४ च्या तुलनेत मात्र ५.३% वाढ झाली आहे. सर्वाधिक गुन्हे मुंबई शहर (२९३७) तद्नंतर ठाणे शहर (९३१), पुणे शहर (७८४), नवी मुंबई (५७७) व औरंगाबाद शहर (३६२) असे दाखल झाले. राज्यातील एकुण दाखल गुन्हयांपैकी उपरोक्त ५ शहरांचा वाटा ५३.२९% इतका आहे. सन २०१५ मध्ये सर्वात कमी गुन्हे नागपुर रेल्वे (४) येथे दाखल झाले असून त्या खालोखाल पुणे रेल्वे (०६), सिंधुदुर्ग (१७), नंदुरबार (१९) व हिंगोली (२३) असे दाखल झाले आहेत. राज्यात सर्वात अधिक गुन्हे प्रमाण नवी मुंबई (२६.९९) तद्नंतर मुंबई शहर (२३.२५), अमरावती शहर (२२.६०) व ठाणे शहर (१८.३०) आहे. नांदेड, पुणे रेल्वे, औरंगाबाद शहर, सिंधुदुर्ग व मुंबई रेल्वे या जिल्हयांत २०१४ चे तुलनेत २०१५ मध्ये लक्षणीय वाढ झाली आहे.

Cheating

1.16.8 10490 Cheating cases have been reported in the State during 2015. Percentage change during 2015 as compared to 2005 shows an increase by 64.1% **,** 10.8% increase as compared to Q.A. and 5.3% increase as compared to 2014 **.** The highest number of cases have been reported in Mumbai (C) (2937) followed by Thane (C) (931),Pune (C) (784), Navi Mumbai (577) and Aurangabad (C) (362)**.** These five units contributed 53.29% of all the Cheating cases reported in the State**.** The lowest number of cases have been reported in Nagpur Rly (4) followed by Pune Rly (6) , Sindhudurg (17) , Nandurbar (19) & Hingoli (23) **.** Navi Mumbai has the highest cheating rate, i.e. (26.99), followed by Mumbai (C) (23.25), Amaravati (C) (22.60) and Thane (C) (18.30). Nanded, Pune Rly, Aurangabad (C), Sindhudurg & Mumbai Rly have shown significant increase during 2015 as compared to 2014.

बनावटीकरण

१.१६.९ राज्यात २०१५ सालात या शीर्षाखाली एकूण १९० गुन्हे दाखल झाले. २०१५ मध्ये २००५ च्या तुलनेत ५०.६% घट झाली, गत पंचवार्षिक सरासरीचे तुलनेत ३५.५% घट झाली व २०१४ च्या तुलनेतही ५.५% घट झाली आहे. सर्वाधिक गुन्हे मुंबई शहर (५०) तद्नंतर नाशिक शहर (१६), ठाणे शहर (१३), पुणे शहर (१२) व नवी मुंबई (१०) असे दाखल झाले. राज्यातील एकुण दाखल गुन्हयांपैकी उपरोक्त ५ शहरांचा ३१.५७% वाटा आहे. सन २०१४ (२०१) च्या तुलनेत सन २०१५ (१९०) मध्ये लक्षणीय घट आहे.

Counterfeiting

1.16.9 190 Counterfeiting cases have been reported in the State during 2015**.** Percentage change during 2015 as compared to 2005 shows a decrease by 50.6% and 35.5% decrease as compared to Q.A. and 5.5% decrease as compared to 2014 **.** The highest number of cases have been reported in Mumbai (C) (50), Nashik (C)(16) , Thane (C) (13) Pune (C) (12) Navi Mumbai (10) **.** These 5 Units contributed 31.57% of all reported cases **.** There is Significant decrease in Counterfeiting cases during 2015 (190) as compared to 2014 (201)**.**

गंभीर दुखापत

१.१६.१० राज्यात २०१५ मध्ये एकूण ७९४५ गुन्हे दाखल झाले आहेत. २०१५ मध्ये २०१४ शी तुलना करता ७३.५ टक्क्याने घट झाली आहे. सर्वात जास्त गुन्हे मुंबई शहर (१५१२), पुणे शहर (६४९), कोल्हापर (६१४), नाशिक ग्रामीण (४५६) व पुणे ग्रामीण (२९४) असे दाखल झाले आहेत. राज्यात दाखल एकुण गुन्हयांपैकी सदर पाच घटकांचा एकत्रित वाटा ४४.३६% आहे. सर्वात कमी गुन्हे पुणे रेल्वे (५), मुंबई रेल्वे (१०), सोलापूर शहर (२२) आणि सिंधुदुर्ग (२६) या घटकांमध्ये दाखल झालेआहेत. महाराष्ट्रात २०१४ (८१२७) च्या तुलनेने २०१५ (७९४५) मध्ये लक्षणीय घट(२.२%) झाल्याचे दिसून येते.

Grevious Hurt

1.16.10. 7945 Grievous Hurt cases have been reported in the State during 2015**.** Percentage change during 2015 shows decrease by 73.5% as compared to 2014**.** The highest number of cases have been reported in Mumbai (C) (1512), followed by Pune (C) (649), Kolhapur (614), Nashik (R) (456) and Pune Rural (294) respectively**.** These five Units contributed 44.36% of all the cases in the State**.** The lowest number of cases in the State reported are in Pune Rly (5), Mumbai Rly (10), Solapur (C) (22) and Sindhudurg (26)**.** Maharashtra has shown significant decrease in Grievous hurt during 2015 (7945) as compared to 2014 (8127) which is 2.2%**.**

आलेख क्र. १.८

सन २०१५ मधील भा.दं.वि. कायदयांतर्गत गुन्हयांची टक्केवारी

Chart no. 1.8

Percentage Distribution Of Various IPC Crimes During 2015

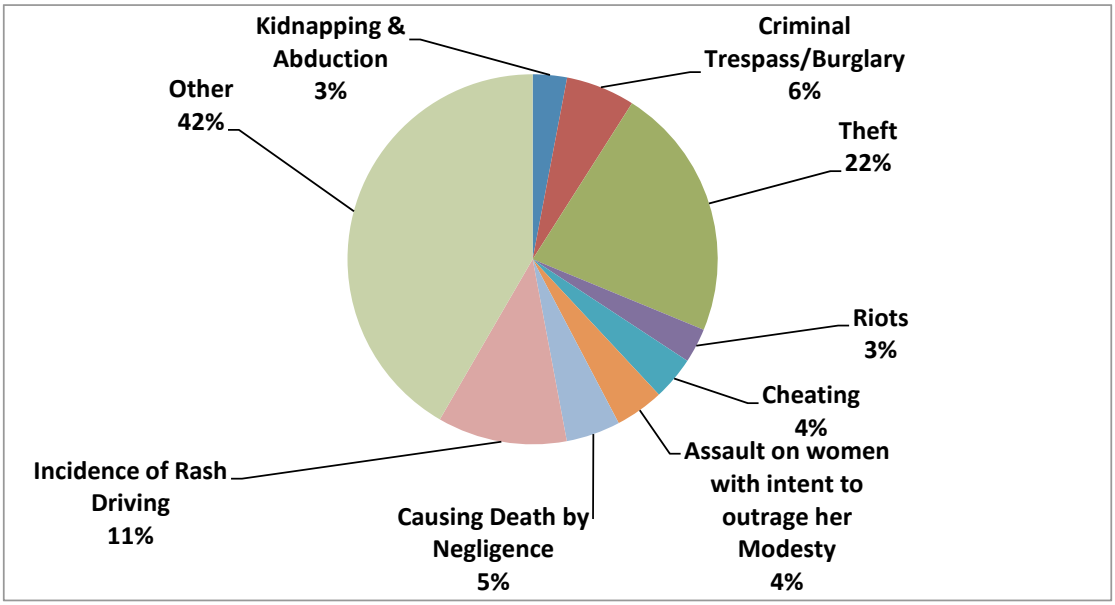

इतर भा.दं.वि. गुन्हे

१.१६.११ राज्यात २०१५ सालात या शीर्षाखाली एकूण ७१९५४ गुन्हे दाखल झाले. २०१५ मध्ये २००५ च्या तुलनेत ५१.८% वाढ झाली, गत पंचवार्षिक सरासरीचे तुलनेत ३८.९% वाढ झाली. २०१४ च्या तुलनेत १५.५ वाढ झाली आहे. सर्वाधिक गुन्हे मुंबई शहर (१०६२१) तद्नंतर सांगली (३३४७), ठाणे शहर (३३३८), यवतमाळ (३३१०) व सोलापूर ग्रामीण (३२८१) असे दाखल झाले. त्यांची बेरीज करता राज्यातील एकुण दाखल गुन्हयांपैकी ३२.९४ % गुन्हे या ५ घटकांचे आहेत. सन २०१५ मध्ये सर्वात कमी गुन्हे पुणे रेल्वे (३६) या घटकात दाखल झाले आहेत. राज्यात सर्वात अधिक गुन्हे प्रमाण अमरावती शहर (१६७.०५), अमरावती ग्रामीण (१४३.२९), यवतमाळ (१११.९५), सांगली (१११.६३) व वर्धा (९६.९८) या घटकांत आहे.

Other IPC Crimes

1.16.11 71954 'Other IPC' cases have been reported in the State during 2015. Percentage change during 2015 as compared to 2005 shows an increase by (51.8%) and 38.9% increase as compared to Q.A. and 15.5% increase as compared to 2014**.** The highest number of cases have been reported in Mumbai (C) (10621),Sangli (3347), Thane (C) (3338), Yavatmal(3310) & Solapur Rural (3281)**.** These five Units contributed 32.94% share of all the cases reported in the State**.** Pune Rly (36) is the lowest affected unit. The highest rate of crime under this head during 2015 has been recorded in Amaravati (C) (167.05) followed by Amaravati (R) (143.29), Yavatmal (111.95.), Sangali (111.63) & Wardha (96.98)**.**

आयुक्तालयांतर्गत भा.दं.वि. चे गुन्हे

१.१७.१ तक्ता क्र. ८ व ९ मध्ये आयुक्तालयांतील २०१५ मध्ये दाखल गुन्हयांची माहिती दिलेली आहे. तसेच आयुक्तालयांतील गुन्हयांबाबत स्वतंत्रपणे प्रकरण क्रं.२ 'मोठया शहरातील गुन्हे' या प्रकरणात सविस्तर विवेचन करण्यात आले आहे.

१.१७.२ २०१५ मध्ये महाराष्ट्रातील एकुण ४६ घटकांपैकी (रेल्वे घटकांसह) ७ घटकांमध्ये भादवि खाली ८००० पेक्षा अधिक दखलपात्र गुन्हे दाखल झाले आहेत. त्यापैकी मुंबई शहर, ठाणे शहर, पुणे शहर, पुणे ग्रामीण व नागपुर शहरामध्ये १०००० पेक्षा जास्त भादंवि खालील दखलपात्र गुन्हे दाखल झाले आहेत. राज्यातील ४६ पोलीस घटकांपैकी ८ जिल्हयांत भादंवि चे ६००१ ते ८००० च्या दरम्यान, १५ घटकांमध्ये भादंवि चे ४००१ ते ६००० दरम्यान आणि १० घटकात २००१ ते ४००० च्या दरम्यान गुन्हे दाखल झाले आहेत.

Incidences of IPC offences in Commissionerates

1.17.1 The Commissionerate-wise IPC crime figures for 2015 can be seen in Table No. 8 and Table No 9. The crime situation in the commissionerates have also been separately discussed and analysed under Chapter No. 2 'Crimes in Large Cities'

1.17.2 Out of 46 Police Units (including Railways Police Districts) in Maharashtra, 7 Police Dists., registered more than 8000 cognizable IPC crimes during 2015. Out of these units, Mumbai (C), Thane (C), Pune (C), Pune (R) & Nagpur (C) registered more than 10000 cognizable IPC crimes. Out of 46 Police Units, 8 Police Units registered between 6001 to 8000, 15 Police Units registered between 4001 to 6000 IPC offences, 10 Police Units registered between 2001 to 4000 such offences.

तक्ता क्र. १.७

सन २०११ ते २०१५ मधील गुन्हयांच्या विविध घटनांच्या गटाप्रमाणे जिल्ह्यांची संख्या शेकडा वाटा

Table No. 1.7

Number Of Districts And Percentage According To Group-Wise Different Incidences During 2011 To 2015

Sr. No.	Crime Incidence (IPC)	2011		2012		2013		2014		2015	
		No.	%	No.	%	No.	%	No.	%	No.	%
[1]	[2]	[3]	[4]	[5]	[6]	[7]	[8]	[9]	[10]	[11]	[12]
1	Above 8000	4	**8.9**	5	11.1	6	13.3	6	13.0	7	15.3
2	6001 to 8000	3	6.7	3	6.7	4	8.9	6	13.0	8	17.4
3	4001 to 6000	12	26.7	10	22.2	13	28.9	13	28.3	15	32.6
4	2001 to 4000	16	35.5	18	40.0	14	31.1	13	28.3	10	21.7
5	Below 2000	10	22.2	9	20.0	8	17.8	8	17.4	6	13.0

तक्ता क्र. १.८

सन २०१५ मध्ये ५००० पेक्षा अधिक भा.दं.वि. चे गुन्हे असलेले पोलीस जिल्हे / आयुक्तालये

Table No. 1.8

Police Districts / Commissionerate Registering Above 5000 IPC Cases During 2015

Sr. No.	Name of the District/Commr.	Incidence			
[1]	[2]	[3]			
1	Mumbai Commr.	42940			
2	Pune Commr.	15349			
3	Thane Commr.	15204			
4	Nagpur Commr.	11018			
5	Aurangabad Commr.	7051			

१.१७.३ महाराष्ट्र राज्यातील परिक्षेत्रे/आयुक्तालयातील एकूण घटक व त्यापैकी ३००० पेक्षा जास्त भा.दं.वि. गुन्हे दाखल झालेल्या घटकांची संख्यात्मक आकडेवारी तक्ता क्र. १.१० मध्ये दिली आहे.

1.17.3 Details of total no. of Units under Ranges/Commrs. Of Maharashtra State wherein more than 3000 I.P.C. crimes have been reported is given below in table no. 1.10.

तक्ता क्र. १.९

सन २०१५ मध्ये ३००० पेक्षा अधिक भा.दं.वि. चे गुन्हे असलेल्या जिल्हे परिक्षेत्रे / आयुक्तालयांची संख्या

Table No. 1.9

Police Ranges /Commissionerate-Wise Number Of Districts Wherein Above 3000 IPC Cases Have Been Registered During 2015

Sr. No.	Name of Range/ Commissionarate	Number of Districts. Above 3000 crimes	Total Number of Distts. In the Range
[1]	[2]	[3]	[4]
1	Amravati	3	5
2	Aurangabad	4	4
3	Nanded	2	4
4	Kolhapur	5	5
5	Nagpur	3	4
6	Nasik	3	5
7	Thane	3	5
8	Railways Range	1	3
9	Commissionerates	8	9
10	Gadchiroli	0	2
	Total	**32**	**46**

विशेष व स्थानिक कायदयान्वयेचे गुन्हे

१.१८.१ विशेष व स्थानिक कायदयाच्या वेगवेगळया शीर्षाखाली २०१० ते २०१५ सालात दाखल झालेल्या गुन्हयांची माहिती तक्ता क्र.१० मध्ये नमूद केली आहे. या तक्त्यात २०१० ते २०१५ या गत पाच वर्षात दाखल गुन्हयांची सरासरी, गुन्हे प्रमाण व त्याअन्वये २०१५ मधील दाखल गुन्हयांतील शेकडा बदल त्याचप्रमाणे २००५ व २०१४ च्या तुलनेत २०१५ मधील दाखल गुन्हयांतील शेकडा बदल दर्शविण्यात आला आहे.

१.१८.२ २००५ मधील गुन्हयांची सन २०१५ मध्ये विशेष व स्थानिक कायद्याखाली (१४७७६६) गुन्ह्यांशी तुलना केली असता ३.८५% ने वाढ झाली आहे. गत पाच वर्षातील गुन्ह्यांशी तुलना करता १५.५०% ने वाढ झाली आहे. त्याचप्रमाणे २०१४ मधील दाखल गुन्ह्यांशी तुलना करता ९.४७% ने वाढ झाली आहे.

१.१८.३ गेल्या ५ वर्षामधील स्थानिक कायद्याअंतर्गत येणाऱ्या गुन्हयांची गुन्हा शीर्षानुसार शेकडा प्रमाणाची विभागणीची माहिती तक्ता क्र. ११ मध्ये दर्शविलेली आहे. यावरुन निदर्शनास येते की, ५५ विशिष्ट कायद्याअंतर्गत येणाऱ्या गुन्हयांची टक्केवारी ७६.२% असून इतर विशेष व स्थानिक कायद्याअंतर्गत येणाऱ्या गुन्हयांची टक्केवारी २३.८% आहे. दारूबंदी कायदा अंतर्गत येणाऱ्या गुन्हयांची टक्केवारी ४४.०% आहे, त्याखालोखाल जुगारसंबंधी कायदा टक्केवारी १३.६%, मादक औषधे व अंमली पदार्थाचा कायदा १०.०८% व हत्यार कायदा (०.८%) असे आहे. उरलेल्या ५१ विशिष्ट कायद्याअंतर्गत एकत्रितरीत्या त्यांचा वाटा २४.८% आहे.

Offences under the Special and Local Laws (SLL)

1.18.1 The Crime head-wise incidences of Cognizable crimes under the Special & Local Laws (SLL) during 2010 to 2015 are presented in Table No. 10. The Quinquennial average of incidence & rate for the period 2010 - 2015 and also the percentage variations during 2015 as compared to 2005, and as compared to the previous year 2014, are presented in this table.

1.18.2 Total number. of cases reported under SLL in 2015 was 147766.The percentage change during 2015 as compared to 2005 shows a increase by 3.85% and a increase by 15.50% as compared to, the Q.A. (2011 to 2015) and an increase by 9.47% as compared to 2014.

1.18.3 The percentage distribution of various heads of cognizable crimes under the SLL during the last 5 years (2010 to 2015) is presented in Table No.11. It is observed that 55 specified crime heads accounted for 76.2% of the total SLL crimes, while the remaining 23.8% have been clubbed as other SLL crimes. The ‘ Prohibition Act ’was major contributor with 44.0% share towards total SLL crimes. Next in order, were offences under the ‘ Gambling Act ’ (13.6%), ‘ NDPS Act ’ (10.08%) & Arm Act (0.8%). Remaining 51 specified crimes together accounts for 24.8% of the total SLL crimes

आलेख क्र. १.९

सन २०१५ मधील विशेष व स्थानिक कायदयांतर्गत गुन्हयांची टक्केवारी

Chart No. 1.9

Percentage Distribution of Different SLL Crimes duging 2015

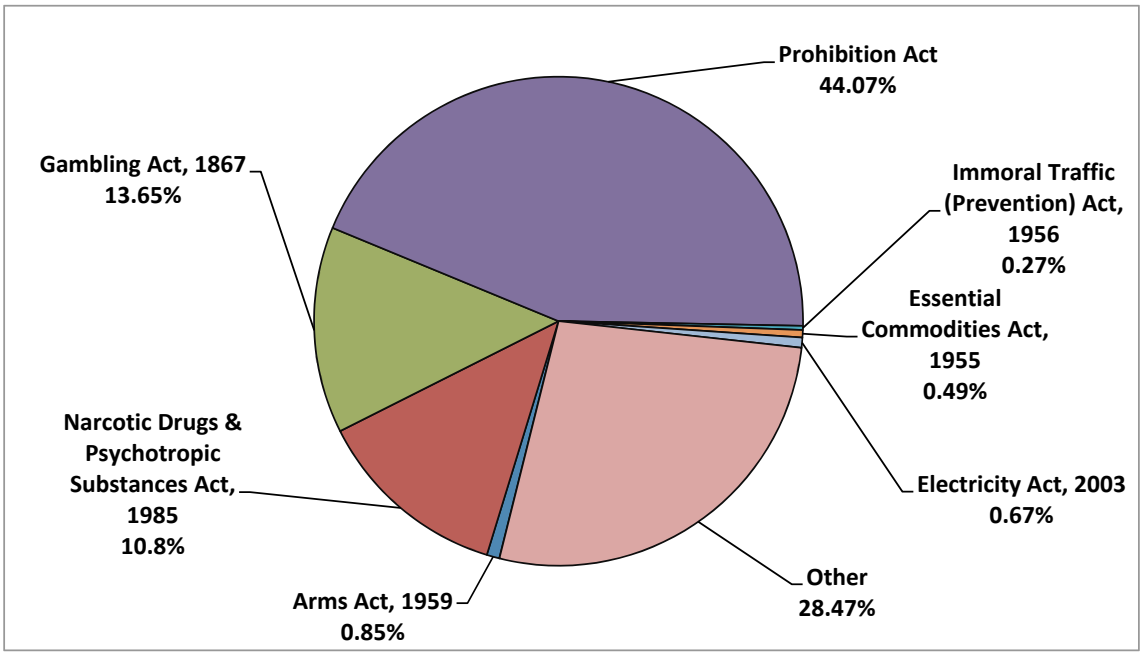

राज्यातील गुन्हयांचा कल

१.१९.१ विशेष व स्थानिक कायद्याअंतर्गत येणा-या गुन्हयांची गुन्हा शिर्ष-निहाय व घटक-निहाय आकडेवारी तक्ता क्र. १२ मध्ये दर्शविलेली आहे. विशेष व स्थानिक कायद्यांतर्गत पोलिसांकडून दाखल होणा-या गुन्हयांमुळे गुन्हे घडण्यास आळा बसतो व त्यामुळे त्यास विशेष असे महत्व आहे.

Crime Trend of State.

1.19.1 The incidences and rate of cognizable SLL crimes is presented head-wise & unit-wise in Table No.12. Since offences under SLL are registered by police on their own initiative, the quantum of registration is an indication of proactive enforcement of the laws.

भारतीय हत्यार कायदा

१.१९.२ सन २०१५ मध्ये राज्यात एकूण १२५३ गुन्हे दाखल झाले आहेत. २०१५ मधील दाखल गुन्हयांची २००५ मधील गुन्हयांशी तुलना केली असता, राज्यात ०.७ % ने वाढ झाली आहे. गेल्या ५ वर्षांतील सरासरीशी तुलना करता १०.७ % ने वाढ झाली आहे व २०१४ शी तुलना करता ११.३% ने घट झाली आहे. राज्यामध्ये सर्वात जास्त गुन्हे नागपूर शहरात (३१५) दाखल झाले असून त्या खालोखाल मुंबई शहर (१२०), पुणे शहर (१११), पुणे ग्रामीण (५०) व नाशिक शहर (४८) येथे गुन्हे दाखल झाले आहेत. राज्यात घडलेल्या एकूण गुन्हयांपैकी ५१.४% वाटा या ५ जिल्हयांचा आहे. १ लाख लोकसंख्येमागे गुन्हयाचे सर्वोच्च प्रमाण नागपूर शहर (११.६५) असून त्या खालोखाल अमरावती शहर (३.०३), नाशिक शाहर (२.७६) वर्धा (२.३२) व अकोला (२.१४) असा क्रम आहे.

Indian Arms Act

1.19.2 1253 cases have been reported in the State during 2015. Percentage change during 2015 as compared to 2005 shows a increase by 0.7%, 10.7% increase as compared to Q.A. and 11.3% decrease as compared to 2014. The highest number of cases have been reported in Nagpur (C) (315), followed by Mumbai (C) (120), Pune (C) (111), Pune (R) (50), Nasik (C)(48). These 5 units contributed 51.4% of all such offences reported Statewide. During 2015. The highest crime rate per lakh population has been recorded in Nagpur (C) (11.65), followed by Amravati (C) (3.03), Nasik (C) (2.76), Wardha (2.32), Akola (2.14).

अंमली पदार्थ प्रतिबंधक कायदा

१.१९.३ सन २०१५ मध्ये राज्यात एकूण १८९७९ गुन्हे दाखल झाले आहेत. २०१५ मधील दाखल गुन्हयांची २००५ मधील गुन्हयाशी तुलना केली असता राज्यात १२९०.४% वाढ झाली, गेल्या ५ वर्षांतील सरासरीशी तुलना करता ३३७.५ % वाढ झाली आहे व २०१४ शी तुलना करता २९.८% ने वाढ झाली आहे. राज्यामध्ये सर्वात जास्त गुन्हे मुंबई शहरात (१८६२८) दाखल झाले असून त्या खालोखाल ठाणे शहर (७६) पुणे शहर (५४), नागपूर शहर (५२) व नवी मुंबई (२३)असे गुन्हे दाखल झाले आहेत. राज्यात घडलेल्या एकूण गुन्हयांपैकी ९९.२% वाटा या ५ जिल्हयांचा आहे. १ लाख लोकसंख्येमागे गुन्हयाचे सर्वोच्च प्रमाण मुंबई शहर (१४७.४९) असून त्या खालोखाल नागपूर शहर (१.९२), ठाणे शहर (१.४९) व नवी मुंबई (१.०८) ची क्रमवारी आहे.

N.D.P.S Act

1.19.3 18979 cases have been reported in the State during 2015. Percentage change during 2015 as compared to 2005 shows an increase by 1290.4%, 337.5% increase as compared to Q.A. and 29.8% increase as compared to 2014. The highest number of cases have been reported in Mumbai (C) (18628), followed by Thane (C) (76) Pune (C) (54), Nagpur (C) (52) & Navi Mumbai (23). These 5 units contributed 99.2% of all cases registered under N.D.P.S Act. During 2015 the highest crime rate in the State for offences under this Act has been recorded in Mumbai (C) (147.49) followed by Nagpur (C) (1.92), Thane (C) (1.49) & Navi Mumbai (1.08).

स्फोटके व स्फोटक पदार्थ कायदा

१.१९.४ या कायद्याअंतर्गत सन २०१५ मध्ये राज्यात एकूण ८८ गुन्हे दाखल झाले आहेत. २०१५ मधील दाखल गुन्हयांची २००५ मधील गुन्हयांशी तुलना केली असता राज्यात ३५.३८ % ने वाढ झाली, गेल्या ५ वर्षांतील सरासरीशी तुलना करता ६९.२३ % ने वाढ झाली आहे व २०१४ शी तुलना करता १६६.६७ % ने वाढ झाली आहे. राज्यामध्ये सर्वात जास्त गुन्हे पुणे ग्रामीण (४९), येथे दाखल झाले असून त्या खालोखाल सांगली (१५), लातूर (५), सिंधुदुर्ग (२) व गोदिया (२) असे गुन्हे दाखल झाले आहेत. राज्यात घडलेल्या एकूण गुन्हयांपैकी ८२.९५% वाटा या ५ घटकांचा आहे.

Explosive & Explosive Substances Act

1.19.4 88 cases have been reported in the State during 2015. Percentage change during 2015 as compared to 2005 shows an increase by 35.38%, 69.23% increase as compared to Q.A. and 166.67% increase as compared to 2014. The highest number of cases have been reported in, Pune Rural (49) followed by, Sangli (15) Latur (5), Sindhudurg (2) and Gondia (2). These 5 units together contributed 82.95% of all such crimes reported in the State.

अनैतिक व्यापार (प्रतिबंधक) कायदा

१.१९.५ २०१५ मध्ये राज्यात ४०० गुन्हे दाखल झाले आहेत. २०१५ मधील दाखल गुन्हयांची २००५ मधील गुन्हयांशी तुलना केली असता, ८०.२% इतकी वाढ झाली आहे. गेल्या ५ वर्षांतील सरासरीशी तुलना करता २६.३% वाढ झाली असुन, २०१४ शी तुलना करता ७१.७% ने वाढ झाली आहे. राज्यामध्ये सर्वात जास्त गुन्हे नागपूर शहर (१३५), मुंबई शहर (८५), पुणे शहर (६३), ठाणे शहर (२८) व कोल्हापूर (१६) दाखल झाले असून राज्यात दाखल झालेल्या एकूण गुन्हयांपैकी ५ शहराचा वाटा ८१.७५% आहे. १ लाख लोकसंख्येमागे गुन्हे दाखल होण्याचे प्रमाणही नागपूर शहरात (४.९९) सर्वात जास्त आहे.

Immoral Traffic (Prevention) Act

1.19.5 400 cases have been reported in the State during 2015. Percentage change during 2015 as compared to 2005 shows an increase by 80.2%, 26.3 increase as compared to Q.A. and 71.7% increase as compared to 2014. The highest number of such incidences are registered in Nagpur (C) (135) followed by Mumbai (C) (85), Pune (C) (63), Thane (C) (28) & Kolhapur (16). These 5 units recorded 81.75% among of all such crimes reported in the State during 2015. Crime rate under this act (for per lakh population) is recorded highest in Nagpur (C) i.e, (4.99).

भारतीय रेल्वे कायदा

१.१९.६ सन २०१५ मध्ये राज्यात एकूण ३० गुन्हे दाखल झाले आहेत. सन २०१५ मधील गुन्हयांची २००५ मधील गुन्हयांशी तुलना केली असता, राज्यात ३०.४% ने वाढ झाली, गत पाच वर्षांतील सरासरीशी तुलना करता २.६% ने घट झाली आहे व २०१४ शी तुलना करता ९.१% ने घट झाली आहे. राज्यामध्ये सर्वात जास्त गुन्हे मुंबई रेल्वे (१७) येथे दाखल झाले असून त्या खालोखाल पुणे रेल्वे (७), सोलापुर ग्रामीण (३), सिधुदुर्ग (२) व मुंबई शहर (१) येथे दाखल झाले आहेत.

Indian Railways Act

1.19.6 Altogether 30 cases have been reported in the State during 2015. Percentage change during 2015 shows a increase by 30.4% over 2005, 2.6% decrease as compared to Q.A. and 9.1% decrease as compared to 2014. The highest number of cases have been reported in Mumbai Rly (17) followed by Pune (Rly) (07), Solapur (R) (3), Sindhudurg (2) & Mumbai (C) (1).

परदेशी नागरिक नोंदणी कायदा

१.१९.७ २०१५ मध्ये राज्यात १ गुन्हा दाखल झाला आहे. २०१५ मधील दाखल गुन्हयांची, २००५ मधील गुन्हयांशी तुलना केली असता राज्यात ९८.६% नी घट झाली आहे. गेल्या ५ वर्षांतील सरासरीशी तुलना करता ९३.९% नी घट झालेली आहे. २०१४ शी तुलना करता ८५.७०% ने घट झाली आहे. राज्यामध्ये सर्वात जास्त गुन्हे मुंबई शहर (१) येथे दाखल झाले असून राज्यात दाखल झालेल्या एकूण गुन्हयांपैकी मुंबई शहराचा वाटा १००% आहे.

Registration of Foreigners Act

1.19.7 1 cases have been registered under this Act during 2015. Percentage change shows an decrease by 98.6% as compared to 2005, 93.9% decrease as compared to Q.A. and 85.7% decrease as compared to 2014. The highest offences under this Act have been recorded in Mumbai (C) (1) during 2015, Mumbai (C) has contributed 100% share of the State.

भारतीय पारपत्र अधिनियम

१.१९.८ २०१५ मध्ये राज्यात ५० गुन्हे दाखल दाखल झाले आहेत. २०१५ मधील दाखल गुन्हयांची २००५ मधील गुन्हयांशी तुलना केली असता राज्यात ३.४% नी घट झाली, गेल्या ५ वर्षांतील सरासरीशी तुलना करता ४३.२% नी घट झाली आहे व २०१४ शी तुलना करता १८.८% नी घट झाली आहे. १ लाख लोकसंख्येमागे गुन्हे दाखल होण्याचे प्रमाणही नवी मुंबई येथे (०.२८) सर्वात जास्त आहे. राज्यात सर्वात जास्त गुन्हे मुंबई शहर (२०) येथे दाखल असून त्या खालोखाल ठाणे शहर (१३), नवी मुंबई (६), नागपूर शहर (२) व पुणे शहर (१) असा क्रम लागतो.

Indian Passport Act

1.19.8 Altogether 50 cases have been reported in the State under this Act during 2015. Percentage change shows a decrease by 3.4% as compared to 2005, 43.2% decrease as compared to Q.A. and 18.8% decrease as compared to 2014. Rate of crime recorded per one Lakh population is highest under this head in Navi Mumbai (0.28). The highest number of cases are reported in Mumbai (C) (20) followed by Thane (C) (13), navi Mumbai (6) Nagpur (2) & Pune (C) (1).

जीवनावश्यक वस्तू कायदा

१.१९.९ या कायद्याअंतर्गत सन २०१५ मध्ये एकूण ७२२ गुन्हे दाखल झाले आहेत. सन २०१५ मधील गुन्हयांची सन २००५ मधील गुन्हयांशी तुलना केली असता, राज्यात ६९.७% ने घट झाली, गेल्या पाच वर्षांतील सरासरीशी तुलना करता ५६.०% घट झाली आहे व २०१४ शी तुलना केली असता २८.२% नी घट झाली आहे. राज्यामध्ये सर्वात जास्त गुन्हे मुबई शहर (८८) येथे दाखल झाले असून त्या खालोखाल सोलापूर शहर (६८), ठाणे शहर (६३), यवतमाळ (४३) व पूणे शहर (३५) येथे दाखल झाले आहेत. एकूण गुन्हयांपैकी ४१.१% वाटा या ५ जिल्हयांचा आहे. १ लाख लोकसंख्येमागे गुन्हे दाखल होण्याचे प्रमाण राज्यात सर्वात जास्त सोलापूर शहर (६.६२) असून त्या खालोखाल यवतमाळ (१.४५), अकोला (१.४५), ठाणे शहर (१.२४) व अमरावती शहर (१.१६) असा क्रम लागतो.

Essential Commodities Act

1.19.9 722 cases under this Act are reported in the State during 2015. Percentage change shows a decrease by 69.7% as compared to 2005, 56.0% decrease as compared to Q.A. and 28.2% decrease as compared to 2014. Highest number of cases have been reported in Mumbai (C) (88) followed by Solapur (68), Thane (63), Yavatmal (43) & Pune (C) (35). These 5 units together contributed 41.1% of all such offences reported in the State. Rate of crime recorded per one Lakh population in state is maximum in Solapur (C) (6.62), followed by Yavatmal (1.45), Akola (1.41), Thane (C) (1.24) & Amravati (C) (1.16).

नागरी हक्क संरक्षण कायदा व अनु. जाती/जमाती अत्याचार प्रतिबंधक कायदा

१.१९.१० या कायदयांतर्गत येणा-या गुन्हयांचे सविस्तर विवेचन "समाजातील दुर्बल घटकांविरूध्द गुन्हे (अनुसूचित जाती / जमाती)" या प्रकरण ७ मध्ये नमूद केले आहे.

Protection of Civil Rights Act & Prevention of Atrocities (SC/ST) Act

1.19.10 Detailed description of crimes under this Act is presented in the chapter-7 "Crime Against Weaker Sections of Society (SC / STs)."

तक्ता क्र. १

भा.दं.वि. व विशेष व स्थानिक कायद्यांतर्गत गुन्हे व गुन्हे प्रमाण (२००५-२०१५)

TABLE NO. 1

Incidences & Rate Of Total Cognizable Crimes Under Indian Penal Code (IPC) And Special & Local Laws (SLL) (2005-2015)

Sr. No.	Year	Estimated mid year population (in Lakhs)	Incidence			Rate			Percentage of IPC Crimes to Total Cognizable Crimes
			IPC	SLL	Total	IPC	SLL	Total	
(1)	(2)	(3)	(4)	(5)	(6)	(7)	(8)	(9)	(10)
1	2005	1073.94	187027	142293	329320	174.2	132.5	306.6	56.8
2	2006	1103.13	191788	129397	321185	173.9	117.3	291.2	59.7
3	2007	1133.48	195707	120310	316017	172.7	106.1	278.8	61.9
4	2008	1063.02	206243	120138	326381	194.0	113.0	307.0	63.2
5	2009	1195.28	199598	135418	335016	167.0	113.3	280.3	59.6
6	2010	1228.78	208168	127940	336108	169.4	104.1	273.5	61.9
7	2011	1123.73	204902	130222	335124	182.3	115.9	298.2	61.1
8	2012	1143.16	202700	130980	333680	177.3	114.6	291.9	60.7
9	2013	1162.69	234385	124124	358509	201.6	106.8	308.3	65.4
10	2014	1176.91	249834	134981	384815	212.3	114.7	327.0	64.9
11	2015	1191.43	275414	147766	423180	231.2	124.0	355.2	65.1
Percentage Change during 2015 over 2005		10.94	47.26	3.85	28.50	32.74	-6.39	15.85	-
Percentage Change during 2015over 2010		-3.04	32.30	15.50	25.91	36.48	19.12	29.87	-
Percentage Change during 2015 over 2014		1.23	10.24	9.47	9.97	8.90	8.11	8.62	-

Note- Population for the year 2005 to 2010, 2012 to 2015 is estimated

तक्ता क्र . २

भा.दं.वि. अंतर्गत विविध शीर्ष-निहाय गुन्हे व गुन्हे प्रमाण आणि सन २०१५ मध्ये शेकडा प्रमाणातील बदल

Table 2

Incidence and Rate of Cognizable Crimes (IPC)) under Different Crime Heads and Percentage Changes During 2015

Sr. No.	CrimeHead	Years						Quinque- nnial Average 2010-2014	2015	Percentage Change In 2015 Increase/Decrease Over		
		2005	2010	2011	2012	2013	2014			2005	Q.A.	2014
1	2	3	4	5	6	7	8	9	10	11	12	13
1	Murder	2621	2744	2818	2712	2512	2670	2691	2509	-4.3	-6.8	-6.0
2	Attempt to commit Murder	1614	1926	2105	2168	2428	2613	2248	2683	66.2	19.4	2.7
3	Culpable Homicide not amounting to Murder	98	152	144	171	203	171	168	151	54.1	-10.2	-11.7
4	Attempt to commit Culpable Homicide	*	*	*	*	*	11	-	12	-	-	9.1
5	Rape	1545	1599	1701	1839	3063	3438	2328	4144	168.2	78.0	20.5
6	Attempt to commit Rape	*	*	*	*	*	15	-	13	-	-	-13.3
7	Kidnapping & Abduction	1194	1508	1669	1583	2640	3793	2239	8255	591.4	268.8	117.6
8	Dacoity	641	778	773	793	833	885	812	784	22.3	-3.5	-11.4
9	Making Preparation and Assembly for committing Dacoity	307	285	291	322	263	293	291	275	-10.4	-5.4	-6.1
10	Robbery	2411	3721	4249	6949	9746	9466	6826	8561	255.1	25.4	-9.6
11	Criminal Trespass/Burglary	15615	16617	16313	15648	18328	17171	16815	16581	6.2	-1.4	-3.4
12	Theft	46851	52565	53449	47476	52670	56283	52489	61128	30.5	16.5	8.6
13	Unlawful Assembly	*	*	*	*	*	1006	-	909	-	-	-9.6
14	Riots	6779	8412	8556	8860	9610	7760	8640	8336	23.0	-3.5	7.4
15	Criminal Breach of Trust	1720	1948	1883	1900	2206	1958	1979	2042	18.7	3.2	4.3
16	Cheating	6391	8684	9098	9398	10215	9959	9471	10490	64.1	10.8	5.3
17	Forgery	*	*	*	*	*	1293	-	1011	-	-	-21.8
18	Counterfeiting	385	389	351	291	242	201	295	190	-50.6	-35.5	-5.5
19	Arson	1123	1229	1255	1246	1197	1180	1221	1299	15.7	6.4	10.1
20	Grievous Hurt	30017	29696	29769	28392	30796	8127	25356	7945	-73.5	-68.7	-2.2
21	Dowry Deaths	341	393	339	329	320	279	332	268	-21.4	-19.3	-3.9
22	Assault on women with intent to outrage her Modesty	3228	3661	3794	3935	8132	10001	5905	11713	262.9	98.4	17.1
23	Insult to the Modesty of Women	919	1180	1071	1294	2632	1575	1550	1119	21.8	-27.8	-29.0
24	Cruelty by Husband or his Relatives	6233	7434	7136	7415	8542	7696	7645	7640	22.6	-0.1	-0.7
25	Importation of Girls from Foreign Country	*	*	*	*	*	1	-	0	-	-	-100.0
26	Causing Death by Negligence	9608	13508	13024	13311	12575	12619	13007	13058	35.9	0.4	3.5
27	Offences against State	*	*	*	*	*	1	-	1	-	-	0.0
28	Offences promoting enmity between different groups	*	*	*	*	*	33	-	35	-	-	6.1
29	Extortion	*	*	*	*	*	780	-	981	-	-	25.8
30	Disclosure of Identity of Victims	*	*	*	*	*	0	-	0	-	-	
31	Incidence of Rash Driving	*	*	*	*	*	26060	-	31161	-	-	19.6
32	Human Trafficking	*	*	*	*	*	108	-	7	-	-	-93.5
33	Unnatural Offences	*	*	*	*	*	102	-	159	-	-	55.9
34	Other IPC crimes	47386	49739	45114	46668	55232	62286	51808	71954	51.8	38.9	15.5
35	**Total Cognizable IPC crimes**	**187027**	**208168**	**204902**	**202700**	**234385**	**249834**	**219998**	**275414**	**47.3**	**25.2**	**10.2**
	* indicates that the Crime Head was not introduced till that year											

तक्ता क्र. ३

भा.दं.वि. अंतर्गत विविध शीर्षाचा शेकडा प्रमाणातील वाटा (२०११ - २०१५)

Table. 3

Percentage Distribution of Cognizable Crimes (IPC) under Different Crime Heads (Crime Head-wise) During 2011-2015

Sr. No.	CrimeHead	2011	2012	2013	2014	2015
1	2	3	4	5	6	7
1	Murder	1.4	1.3	1.1	1.1	0.9
2	Attempt to commit Murder	1.0	1.1	1.0	1.0	1.0
3	Culpable Homicide not amounting to Murder	0.1	0.1	0.1	0.1	0.1
4	Attempt to commit Culpable Homicide	-	-	-	0.0	0.0
5	Rape	0.8	0.9	1.3	1.4	1.5
6	Attempt to commit Rape	-	-	-	0.0	0.0
7	Kidnapping & Abduction_Total	0.8	0.8	1.1	1.5	3.0
8	Dacoity	0.4	0.4	0.4	0.4	0.3
9	Making Preparation and Assembly for committing Dacoity	0.1	0.2	0.1	0.1	0.1
10	Robbery	2.1	3.4	4.2	3.8	3.1
11	Criminal Trespass/Burglary_Total	8.0	7.7	7.8	6.9	6.0
12	Theft	26.1	23.4	22.5	22.5	22.2
13	Unlawful Assembly	-	-	-	0.4	0.3
14	Riots	4.2	4.4	4.1	3.1	3.0
15	Criminal Breach of Trust	0.9	0.9	0.9	0.8	0.7
16	Cheating	4.4	4.6	4.4	4.0	3.8
17	Forgery	-	-	-	0.5	0.4
18	Coounterfeiting	0.2	0.1	0.1	0.1	0.1
19	Arson	0.6	0.6	0.5	0.5	0.5
20	Grievous Hurt	14.5	14.0	13.1	3.3	2.9
21	Dowry Deaths	0.2	0.2	0.1	0.1	0.1
22	Assault on women with intent to outrage her Modesty	1.9	1.9	3.5	4.0	4.3
23	Insult to the Modesty of Women	0.5	0.6	1.1	0.6	0.4
24	Cruelty by Husband or his Relatives	3.5	3.7	3.6	3.1	2.8
25	Importation of Girls from Foreign Country	-	-	-	0.0	0.0
26	Causing Death by Negligence	6.4	6.6	5.4	5.1	4.7
27	Offences against State	-	-	-	0.0	0.0
28	Offences promoting enmity between different groups	-	-	-	0.0	0.0
29	Extortion	-	-	-	0.3	0.4
30	Disclosure of Identity of Victims	-	-	-	0.0	0.0
31	Incidence of Rash Driving	-	-	-	10.4	11.3
32	Human Trafficking	-	-	-	0.0	0.0
33	Unnatural Offences	-	-	-	0.0	0.1
34	Other IPC crimes	22.0	23.0	23.6	24.9	26.1
35	**Total Cognizable IPC crimes**	**100.0**	**100.0**	**100.0**	**100.0**	**100.0**

तक्ता क्र. ४

भा.दं.वि. अंतर्गत विविध शीर्षाचा शेकडा प्रमाणातील वाटा (२०१० - २०१५)

Table. 4

Incidence of Total Cognizable Crimes (IPC) During 2010 - 2015

Sr. No.	Unit	2010	2011	2012	2013	2014	Quinquennial Average 2010-2014	2015	Percentage Change In 2015 Increase/Decrease Over	
									QA	2014
1	2	3	4	5	6	7	8	9	10	11
1	Akola	4472	4025	3442	3979	4433	4070	4423	8.7	11.2
2	Amravati Rural	4574	4228	4442	5440	6948	5126	7380	44.0	35.7
3	Buldhana	3972	3902	3497	4024	4453	3970	4959	24.9	23.2
4	Yavatmal	4777	5008	6365	12567	9951	7734	8148	5.4	-35.2
5	Washim	2070	2279	2241	2513	2579	2336	2759	18.1	9.8
*	**Amravati Range**	**19865**	**19442**	**19987**	**28523**	**28364**	**23236**	**27669**	**19.1**	**-3.0**
6	Aurangabad Rural	3223	3214	3562	4565	4237	3760	5168	37.4	13.2
7	Jalna	2960	3017	3051	3173	3372	3115	3646	17.1	14.9
8	Beed	4049	4230	4099	4713	4864	4391	5480	24.8	16.3
9	Osmanabad	2831	3083	3055	2864	2825	2932	3316	13.1	15.8
*	**Aurangabad Range**	**13063**	**13544**	**13767**	**15315**	**15298**	**14197**	**17610**	**24.0**	**15.0**
10	Nanded	5312	5162	4668	5058	4600	4960	5654	14.0	11.8
11	Latur	3513	3418	3237	3443	4070	3536	4616	30.5	34.1
12	Parbhani	3043	2967	2836	3573	3606	3205	4083	27.4	14.3
13	Hingoli	1865	1743	1391	1400	1761	1632	1941	18.9	38.6
*	**Nanded Range**	**13733**	**13290**	**12132**	**13474**	**14037**	**13333**	**16294**	**22.2**	**20.9**
14	Kolhapur	3727	4114	4554	4800	4942	4427	6109	38.0	27.3
15	Pune Rural	7741	7902	8433	9208	10334	8724	11803	35.3	28.2
16	Sangli	2922	2743	2783	3353	5171	3394	6317	86.1	88.4
17	Satara	4349	4312	5042	6086	6062	5170	6640	28.4	9.1
18	Solapur Rural	4751	4716	4476	5057	6235	5047	7284	44.3	44.0
*	**Kolhapur Range**	**23490**	**23787**	**25288**	**28504**	**32744**	**26763**	**38153**	**42.6**	**33.9**
19	Bhandara	2242	2077	2019	2257	2003	2120	2016	-4.9	-10.7
20	Chandrapur	4006	3828	3763	4476	4441	4103	4414	7.6	-1.4
21	Nagpur Rural	3922	3891	3622	4242	4564	4048	4467	10.3	5.3
22	Wardha	3882	3492	3564	3959	3687	3717	4059	9.2	2.5
*	**Nagpur Range**	**14052**	**13288**	**12968**	**14934**	**14695**	**13987**	**14956**	**6.9**	**0.1**
23	Gadchiroli	1082	957	981	1033	875	986	1499	52.1	45.1
24	Gondia	1982	1947	1772	1887	1836	1885	1882	-0.1	-0.3
*	**Gadchiroli Range**	**3064**	**2904**	**2753**	**2920**	**2711**	**2870**	**3381**	**17.8**	**15.8**
25	Ahmednagar	7215	7648	7246	7934	6957	7400	8018	8.4	1.1
26	Dhule	2974	2749	2542	3136	2818	2844	2738	-3.7	-12.7
27	Jalgaon	5408	5518	4954	5548	6531	5592	6609	18.2	19.1
28	Nasik Rural	5011	4989	5216	6477	6832	5705	7232	26.8	11.7
29	Nandurbar	1542	1486	1358	1558	1425	1474	1388	-5.8	-10.9
*	**Nasik Range**	**22150**	**22390**	**21316**	**24653**	**24563**	**23014**	**25985**	**12.9**	**5.4**
30	Raigad	2006	1997	2159	2595	2601	2272	3127	37.7	20.5
31	Ratnagiri	1604	1463	1398	1568	1568	1520	2188	43.9	39.5
32	Sindhudurg	815	792	803	841	789	808	838	3.7	-0.4
33	Thane Rural	6213	6005	6919	7477	3641	6051	4007	-33.8	-46.4
34	Palghar					4692	938	5343	469.4	-
*	**Thane Range**	**10638**	**10257**	**11279**	**12481**	**13291**	**11589**	**15503**	**33.8**	**24.2**
35	Mumbai Railway	2322	2471	2325	2684	3141	2589	4234	63.6	57.7
36	Pune Railway	439	462	445	498	676	504	780	54.8	56.6
37	Nagpur Railway	1135	1235	1292	1577	1768	1401	2263	61.5	43.5
*	**Railway Range**	**3896**	**4168**	**4062**	**4759**	**5585**	**4494**	**7277**	**61.9**	**52.9**
38	Nagpur Commr.	7728	8063	8277	9426	10359	8771	11018	25.6	16.9
39	Pune Commr.	13602	12622	12308	13159	14468	13232	15349	16.0	16.6
40	Thane Commr.	9943	9653	10144	12631	13227	11120	15204	36.7	20.4
41	Mumbai Commr.	33932	32647	30508	34840	40361	34458	42940	24.6	23.2
42	Nasik Commr.	4484	4512	4390	4401	3883	4334	3963	-8.6	-10.0
43	Aurangabad Commr.	3953	3781	3659	4033	4821	4049	7051	74.1	74.8
44	Solapur Commr.	1623	1965	1992	2166	2186	1986	2583	30.0	19.3
45	Navi Mumbai	5873	5658	5157	5390	5903	5596	5990	7.0	11.1
46	Amravati Commr.	3079	2931	2713	2776	3338	2967	4488	51.2	61.7
*	**Total Commrs.**	**84217**	**81832**	**79148**	**88822**	**98546**	**86513**	**108586**	**25.5**	**22.3**
*	**Total of M.S**	**208168**	**204902**	**202700**	**234385**	**249834**	**219998**	**275414**	**25.2**	**17.5**

तक्ता क्र. ५

जिल्हा व आयुक्तालय-निहाय सन २०१५ मधील भा.दं.वि. कायदयांतर्गतचे गुन्हे व गुन्हे प्रमाण

Table. 5

Incidence & Rate of Total Cognizable Crimes (IPC) During 2015

Sr.No.	Unit	Incidence of Total Cognizable Crimes	Percentage Contribution to State Total	Estimated mid-Year Population (In Lakhs)	Rate of Total Cognizable Crimes	Rank of Criminality *
1	2	3	4	5	6	7
1	Akola	4423	1.6	19.13	231.2	13
2	Amravati Rural	7380	2.7	21.76	339.2	5
3	Buldhana	4959	1.8	27.32	181.5	25
4	Yavatmal	8148	3.0	29.57	275.6	9
5	Washim	2759	1.0	12.82	215.3	16
*	**Amravati Range**	**27669**	**10.0**	**110.59**	**250.2**	
6	Aurangabad Rural	5168	1.9	23.72	217.9	15
7	Jalna	3646	1.3	21.08	173.0	27
8	Beed	5480	2.0	27.76	197.4	22
9	Osmanabad	3316	1.2	17.65	187.8	24
*	**Aurangabad Range**	**17610**	**6.4**	**90.21**	**195.2**	
10	Nanded	5654	2.1	35.98	157.1	33
11	Latur	4616	1.7	26.31	175.5	26
12	Parbhani	4083	1.5	19.72	207.0	19
13	Hingoli	1941	0.7	12.64	153.6	34
*	**Nanded Range**	**16294**	**5.9**	**94.65**	**172.2**	
14	Kolhapur	6109	2.2	41.22	148.2	36
15	Pune Rural	11803	4.3	44.48	265.4	11
16	Sangali	6317	2.3	29.98	210.7	17
17	Satara	6640	2.4	31.84	208.6	18
18	Solapur Rural	7284	2.6	35.74	203.8	20
*	**Kolhapur Range**	**38153**	**13.9**	**183.25**	**208.2**	
19	Bhandara	2016	0.7	12.71	158.6	32
20	Chandrapur	4414	1.6	23.35	189.0	23
21	Nagpur Rural	4467	1.6	22.51	198.5	21
22	Wardha	4059	1.5	13.77	294.9	7
*	**Nagpur Range**	**14956**	**5.4**	**72.33**	**206.8**	
23	Gadchiroli	1499	0.5	11.42	131.3	40
24	Gondia	1882	0.7	14.06	133.8	39
*	**Gadchiroli Range**	**3381**	**1.2**	**25.48**	**132.7**	
25	Ahmednagar	8018	2.9	48.02	167.0	29
26	Dhule	2738	1.0	22.02	124.3	41
27	Jalgaon	6609	2.4	45.18	146.3	37
28	Nasik Rural	7232	2.6	47.62	151.9	35
29	Nandurbar	1388	0.5	17.79	78.0	43
*	**Nasik Range**	**25985**	**9.4**	**180.64**	**143.9**	
30	Raigad	3127	1.1	18.77	166.6	31
31	Ratnagiri	2188	0.8	16.15	135.5	38
32	Sindhudurg	838	0.3	8.50	98.6	42
33	Thane Rural	4007	1.5	23.97	167.2	29
34	Palghar	5343	1.9	31.61	169.0	28
*	**Thane Range**	**15503**	**5.6**	**99.00**	**156.6**	
35	Mumbai Railway	4234	1.5			
36	Pune Railway	780	0.3			
37	Nagpur Railway	2263	0.8			
*	**Railway Range**	**7277**	**2.6**			
38	Nagpur Commr.	11018	4.0	27.04	407.5	3
39	Pune Commr.	15349	5.6	57.40	267.4	10
40	Thane Commr.	15204	5.5	50.87	298.9	6
41	Mumbai Commr.	42940	15.6	126.30	340.0	4
42	Nasik Commr.	3963	1.4	17.41	227.6	14
43	Aurangabad Commr.	7051	2.6	16.02	440.1	2
44	Solapur Commr.	2583	0.9	10.28	251.4	12
45	Navi Mumbai	5990	2.2	21.38	280.2	8
46	Amravati Commr.	4488	1.6	8.59	522.5	1
*	**Total Commrs.**	**108586**	**39.4**	**335.29**	**323.9**	
*	**Total of M.S**	**275414**	**100.0**	**1191.43**	**231.2**	

NOTE 1. * Rank on the basis of rate of total congnizable crimes under IPC (col.6)

2 No separate population for Rly. Units, therefore crime rate not shown.

तक्ता क्र. ५ (अ)

जिल्हा व आयुक्तालय-निहाय सन २०१५ मधील विशेष व स्थानिक कायदयांतर्गतचे गुन्हे व गुन्हे प्रमाण

Table 5A

Incidence & Rate of Total Cognizable Crimes (SLL) During 2015

Sr. No	Unit	Incidence of Total Cognizable Crimes	Percentage Contribution to State Total	Estimated mid-Year Population (In Lakhs)	Rate of Total Cognizable Crimes	Rank of Criminality *
1	2	3	4	5	6	7
1	Akola	2662	1.8	19.13	139.2	14
2	Amravati Rural	4924	3.4	21.76	226.3	4
3	Buldhana	4524	3.1	27.32	165.6	11
4	Yavatmal	5884	4.1	29.57	199.0	5
5	Washim	2024	1.4	12.82	157.9	13
*	**Amravati Range**	**20018**	**13.8**	**110.59**	**181.0**	
6	Aurangabad Rural	1728	1.2	23.72	72.9	21
7	Jalna	1801	1.2	21.08	85.4	18
8	Beed	2767	1.9	27.76	99.7	17
9	Osmanabad	1206	0.8	17.65	68.3	24
*	**Aurangabad Range**	**7502**	**5.2**	**90.21**	**83.2**	
10	Nanded	2353	1.6	35.98	65.4	27
11	Latur	1764	1.2	26.31	67.1	26
12	Parbhani	1566	1.1	19.72	79.4	22
13	Hingoli	804	0.6	12.64	63.6	29
*	**Nanded Range**	**6487**	**4.5**	**94.65**	**68.5**	
14	Kolhapur	1586	1.1	41.22	38.5	38
15	Pune Rural		0.0	44.48	0.0	28
16	Sangli	1640	1.1	29.98	54.7	31
17	Satara	2135	1.5	31.84	67.1	25
18	Solapur Rural	4788	3.3	35.74	134.0	15
*	**Kolhapur Range**	**10149**	**7.0**	**183.25**	**55.4**	
19	Bhandara	2300	1.6	12.71	181.0	7
20	Chandrapur	7208	5.0	23.35	308.7	3
21	Nagpur Rural	4013	2.8	22.51	178.3	8
22	Wardha	10926	7.5	13.77	793.7	2
*	**Nagpur Range**	**24447**	**16.9**	**72.33**	**338.0**	
23	Gadchiroli	1813	1.3	11.42	158.8	12
24	Gondia	2497	1.7	14.06	177.6	9
*	**Gadchiroli Range**	**4310**	**3.0**	**25.48**	**169.2**	
25	Ahmednagar	3892	2.7	48.02	81.0	19
26	Dhule	1144	0.8	22.02	51.9	33
27	Jalgaon	3270	2.3	45.18	72.4	22
28	Nasik Rural	2184	1.5	47.62	45.9	35
29	Nandurbar	1007	0.7	17.79	56.6	30
*	**Nasik Range**	**11497**	**7.9**	**180.64**	**63.6**	
30	Raigad	659	0.5	18.77	35.1	39
31	Ratnagiri	430	0.3	16.15	26.6	42
32	Sindhudurg	281	0.2	8.50	33.1	40
33	Thane Rural	749	0.5	23.97	31.2	41
34	Palghar	613	0.4	31.61	19.4	43
*	**Thane Range**	**2732**	**1.9**	**99.00**	**27.6**	
35	Mumbai Railway	99	0.1			
36	Pune Railway	52	0.0			
37	Nagpur Railway	128	0.1			
*	**Railway Range**	**279**	**0.2**			
38	Nagpur Commr.	22095	15.3	27.04	817.1	1
39	Pune Commr.	3983	2.7	57.40	69.4	23
40	Thane Commr.	2226	1.5	50.87	43.8	36
41	Mumbai Commr.	23737	16.4	126.30	187.9	6
42	Nasik Commr.	907	0.6	17.41	52.1	32
43	Aurangabad Commr.	794	0.5	16.02	49.6	34
44	Solapur Commr.	1365	0.9	10.28	132.8	16
45	Navi Mumbai	902	0.6	21.38	42.2	37
46	Amravati Commr.	1454	1.0	8.59	169.3	10
*	**Total Commrs.**	**57463**	**39.7**	**335.29**	**171.4**	
*	**Total of M.S**	**144884**	**100.0**	**1191.43**	**121.6**	

NOTE 1. * Rank on the basis of rate of total congnizable crimes under SLL (col.6)

2 No separate population for Rly. Units, therefore crime rate not shown.

तक्ता क्र. ६

जिल्हा व आयुक्तालय-निहाय भा. दं. वि. चे शीर्ष-निहाय दाखल गुन्हे व गुन्हे प्रमाण सन २०१४

TABLE NO-6

Incidence (I), Victims(V) & Rate (R) of Cognizable Crimes (IPC) under Different Crime Heads During 2015

Sr. No.	Unit	Murder			Attempt To Commit Murder			C.H. Not Amounting To Murder		
		I	V	R	I	V	R	I	V	R
1	2	3	4	5	6	7	8	9	10	11
1	Akola	44	52	2.30	42	66	2.20	2	2	0.10
2	Amravati Rural	60	64	2.76	67	69	3.08	2	2	0.09
3	Buldhana	54	58	1.98	32	34	1.17	4	4	0.15
4	Yavatmal	75	75	2.54	71	71	2.40	7	7	0.24
5	Washim	26	26	2.03	55	57	4.29	4	4	0.31
*	**Amravati Range**	**259**	**275**	**2.34**	**267**	**297**	**2.41**	**19**	**19**	**0.17**
6	Aurangabad Rural	54	54	2.28	68	68	2.87	2	2	0.08
7	Jalna	40	44	1.90	72	72	3.42	6	6	0.28
8	Beed	66	71	2.38	96	124	3.46	2	7	0.07
9	Osmanabad	39	43	2.21	43	43	2.44	1	1	0.06
*	**Aurangabad Range**	**199**	**212**	**2.21**	**279**	**307**	**3.09**	**11**	**16**	**0.12**
10	Nanded	60	65	1.67	55	55	1.53	1	1	0.03
11	Latur	59	59	2.24	40	40	1.52	3	3	0.11
12	Parbhani	45	45	2.28	78	78	3.96	3	3	0.15
13	Hingoli	35	38	2.77	33	33	2.61	1	1	0.08
*	**Nanded Range**	**199**	**207**	**2.10**	**206**	**206**	**2.18**	**8**	**8**	**0.08**
14	Kolhapur	47	49	1.14	83	88	2.01	7	7	0.17
15	Pune Rural	167	168	3.75	102	102	2.29	11	11	0.25
16	Sangli	56	62	1.87	51	64	1.70	3	15	0.10
17	Satara	57	58	1.79	59	59	1.85	6	11	0.19
18	Solapur Rural	70	73	1.96	87	89	2.43	4	9	0.11
*	**Kolhapur Range**	**397**	**410**	**2.17**	**382**	**402**	**2.08**	**31**	**53**	**0.17**
19	Bhandara	27	29	2.12	29	34	2.28	2	2	0.16
20	Chandrapur	29	31	1.24	54	61	2.31	4	4	0.17
21	Nagpur Rural	58	58	2.58	40	40	1.78	5	5	0.22
22	Wardha	46	48	3.34	34	34	2.47	5	5	0.36
*	**Nagpur Range**	**160**	**166**	**2.21**	**157**	**169**	**2.17**	**16**	**16**	**0.22**
23	Gadchiroli	52	57	4.55	49	77	4.29	3	3	0.26
24	Gondia	28	28	1.99	31	31	2.20	0	0	0.00
*	**Gadchiroli Range**	**80**	**85**	**3.14**	**80**	**108**	**3.14**	**3**	**3**	**0.12**
25	Ahmednagar	111	111	2.31	90	90	1.87	5	5	0.10
26	Dhule	35	37	1.59	39	39	1.77	3	3	0.14
27	Jalgaon	72	72	1.59	71	74	1.57	4	4	0.09
28	Nasik Rural	104	107	2.18	78	82	1.64	4	6	0.08
29	Nandurbar	31	32	1.74	20	23	1.12	2	2	0.11
*	**Nasik Range**	**353**	**359**	**1.95**	**298**	**308**	**1.65**	**18**	**20**	**0.10**
30	Raigad	35	35	1.86	30	30	1.60	6	6	0.32
31	Ratnagiri	14	14	0.87	10	13	0.62	4	5	0.25
32	Sindhudurg	9	9	1.06	4	4	0.47	0	0	0.00
33	Thane Rural	53	57	2.21	28	28	1.17	4	4	0.17
34	Palghar	92	94	2.91	35	35	1.11	2	2	0.06
*	**Thane Range**	**203**	**209**	**2.05**	**107**	**110**	**1.08**	**16**	**17**	**0.16**
35	Mumbai Railway	6	6		5	5		1	1	
36	Pune Railway	5	5		1	1		0	0	
37	Nagpur Railway	7	7		5	5		0	0	
*	**Railway Range**	**18**	**18**		**11**	**11**		**1**	**1**	
38	Nagpur Commr.	79	86	2.92	84	87	3.11	3	3	0.11
39	Pune Commr.	125	127	2.18	180	196	3.14	10	12	0.17
40	Thane Commr.	106	107	2.08	181	185	3.56	7	26	0.14
41	Mumbai Commr.	169	172	1.34	231	243	1.83	1	2	0.01
42	Nasik Commr.	40	40	2.30	43	46	2.47	0	0	0.00
43	Aurangabad Commr.	35	36	2.18	82	84	5.12	3	3	0.19
44	Solapur Commr.	15	15	1.46	31	31	3.02	0	0	0.00
45	Navi Mumbai	48	51	2.25	27	28	1.26	2	2	0.09
46	Amravati Commr.	24	24	2.79	37	38	4.31	2	2	0.23
*	**Total Commrs.**	**641**	**658**	**1.91**	**896**	**938**	**2.67**	**28**	**50**	**0.08**
*	**Total of M.S**	**2509**	**2599**	**2.11**	**2683**	**2856**	**2.25**	**151**	**203**	**0.13**

तक्ता क्र. ६ (चालू)

TABLE NO.6 (Continued)

Sr. No.	Unit	Attempt to commit C.H. Not Amounting To Murder			Rape					
					Total Rape (Custodial+Other than Custodial)			Custodial Rape		
								Total Custodial		
		I	V	R	I	V	R	I	V	R
1	2	12	13	14	15	16	17	18	19	20
1	Akola	0	0	0.00	44	44	2.30	0	0	0.00
2	Amravati Rural	0	0	0.00	122	122	5.61	0	0	0.00
3	Buldhana	0	0	0.00	63	63	2.31	0	0	0.00
4	Yavatmal	0	0	0.00	98	98	3.31	0	0	0.00
5	Washim	0	0	0.00	30	30	2.34	0	0	0.00
*	**Amravati Range**	**0**	**0**	**0.00**	**357**	**357**	**3.23**	**0**	**0**	**0.00**
6	Aurangabad Rural	0	0	0.00	45	45	1.90	0	0	0.00
7	Jalna	0	0	0.00	47	47	2.23	0	0	0.00
8	Beed	0	0	0.00	78	79	2.81	0	0	0.00
9	Osmanabad	0	0	0.00	54	54	3.06	0	0	0.00
*	**Aurangabad Range**	**0**	**0**	**0.00**	**224**	**225**	**2.48**	**0**	**0**	**0.00**
10	Nanded	0	0	0.00	70	70	1.95	0	0	0.00
11	Latur	0	0	0.00	54	54	2.05	0	0	0.00
12	Parbhani	0	0	0.00	44	44	2.23	0	0	0.00
13	Hingoli	0	0	0.00	22	22	1.74	0	0	0.00
*	**Nanded Range**	**0**	**0**	**0.00**	**190**	**190**	**2.01**	**0**	**0**	**0.00**
14	Kolhapur	0	0	0.00	93	93	2.26	0	0	0.00
15	Pune Rural	0	0	0.00	181	181	4.07	0	0	0.00
16	Sangli	0	0	0.00	67	68	2.23	0	0	0.00
17	Satara	0	0	0.00	114	114	3.58	0	0	0.00
18	Solapur Rural	1	1	0.03	109	110	3.05	0	0	0.00
*	**Kolhapur Range**	**1**	**1**	**0.01**	**564**	**566**	**3.08**	**0**	**0**	**0.00**
19	Bhandara	0	0	0.00	25	26	1.97	0	0	0.00
20	Chandrapur	0	0	0.00	126	126	5.40	0	0	0.00
21	Nagpur Rural	0	0	0.00	84	84	3.73	0	0	0.00
22	Wardha	0	0	0.00	60	60	4.36	0	0	0.00
*	**Nagpur Range**	**0**	**0**	**0.00**	**295**	**296**	**4.08**	**0**	**0**	**0.00**
23	Gadchiroli	0	0	0.00	41	41	3.59	0	0	0.00
24	Gondia	0	0	0.00	56	56	3.98	0	0	0.00
*	**Gadchiroli Range**	**0**	**0**	**0.00**	**97**	**97**	**3.81**	**0**	**0**	**0.00**
25	Ahmednagar	0	0	0.00	106	106	2.21	0	0	0.00
26	Dhule	0	0	0.00	35	35	1.59	0	0	0.00
27	Jalgaon	0	0	0.00	66	66	1.46	0	0	0.00
28	Nasik Rural	0	0	0.00	103	104	2.16	0	0	0.00
29	Nandurbar	0	0	0.00	25	25	1.41	0	0	0.00
*	**Nasik Range**	**0**	**0**	**0.00**	**335**	**336**	**1.85**	**0**	**0**	**0.00**
30	Raigad	0	0	0.00	88	88	4.69	0	0	0.00
31	Ratnagiri	0	0	0.00	48	48	2.97	0	0	0.00
32	Sindhudurg	7	7	0.82	28	28	3.29	0	0	0.00
33	Thane Rural	0	0	0.00	86	86	3.59	0	0	0.00
34	Palghar	0	0	0.00	135	136	4.27	0	0	0.00
*	**Thane Range**	**7**	**7**	**0.07**	**385**	**386**	**3.89**	**0**	**0**	**0.00**
35	Mumbai Railway	1	1		5	5		0	0	
36	Pune Railway	0	0		4	4		0	0	
37	Nagpur Railway	0	0		6	6		0	0	
*	**Railway Range**	**1**	**1**		**15**	**15**		**0**	**0**	
38	Nagpur Commr.	0	0	0.00	166	183	6.14	0	0	0.00
39	Pune Commr.	1	1	0.02	266	270	4.63	0	0	0.00
40	Thane Commr.	0	0	0.00	251	251	4.93	0	0	0.00
41	Mumbai Commr.	1	1	0.01	712	724	5.64	0	0	0.00
42	Nasik Commr.	0	0	0.00	30	30	1.72	0	0	0.00
43	Aurangabad Commr.	1	1	0.06	65	65	4.06	0	0	0.00
44	Solapur Commr.	0	0	0.00	49	49	4.77	0	0	0.00
45	Navi Mumbai	0	0	0.00	104	109	4.86	0	0	0.00
46	Amravati Commr.	0	0	0.00	39	40	4.54	0	0	0.00
*	**Total Commrs.**	**3**	**3**	**0.01**	**1682**	**1721**	**5.02**	**0**	**0**	**0.00**
*	**Total of M.S**	**12**	**12**	**0.01**	**4144**	**4189**	**3.48**	**0**	**0**	**0.00**

तक्ता क्र. ६ (चालू)

TABLE NO.6 (Continued)

Sr. No.	Unit	Rape								
		Custodial Rape						Rape Other than Custodial		
		Gang Rape			Other Rape			Total Rape other than Custodial		
		I	V	R	I	V	R	I	V	R
1	2	21	22	23	24	25	26	27	28	29
1	Akola	0	0	0.00	0	0	0.00	44	44	2.30
2	Amravati Rural	0	0	0.00	0	0	0.00	122	122	5.61
3	Buldhana	0	0	0.00	0	0	0.00	63	63	2.31
4	Yavatmal	0	0	0.00	0	0	0.00	98	98	3.31
5	Washim	0	0	0.00	0	0	0.00	30	30	2.34
*	**Amravati Range**	**0**	**0**	**0.00**	**0**	**0**	**0.00**	**357**	**357**	**3.23**
6	Aurangabad Rural	0	0	0.00	0	0	0.00	45	45	1.90
7	Jalna	0	0	0.00	0	0	0.00	47	47	2.23
8	Beed	0	0	0.00	0	0	0.00	78	79	2.81
9	Osmanabad	0	0	0.00	0	0	0.00	54	54	3.06
*	**Aurangabad Range**	**0**	**0**	**0.00**	**0**	**0**	**0.00**	**224**	**225**	**2.48**
10	Nanded	0	0	0.00	0	0	0.00	70	70	1.95
11	Latur	0	0	0.00	0	0	0.00	54	54	2.05
12	Parbhani	0	0	0.00	0	0	0.00	44	44	2.23
13	Hingoli	0	0	0.00	0	0	0.00	22	22	1.74
*	**Nanded Range**	**0**	**0**	**0.00**	**0**	**0**	**0.00**	**190**	**190**	**2.01**
14	Kolhapur	0	0	0.00	0	0	0.00	93	93	2.26
15	Pune Rural	0	0	0.00	0	0	0.00	181	181	4.07
16	Sangli	0	0	0.00	0	0	0.00	67	68	2.23
17	Satara	0	0	0.00	0	0	0.00	114	114	3.58
18	Solapur Rural	0	0	0.00	0	0	0.00	109	110	3.05
*	**Kolhapur Range**	**0**	**0**	**0.00**	**0**	**0**	**0.00**	**564**	**566**	**3.08**
19	Bhandara	0	0	0.00	0	0	0.00	25	26	1.97
20	Chandrapur	0	0	0.00	0	0	0.00	126	126	5.40
21	Nagpur Rural	0	0	0.00	0	0	0.00	84	84	3.73
22	Wardha	0	0	0.00	0	0	0.00	60	60	4.36
*	**Nagpur Range**	**0**	**0**	**0.00**	**0**	**0**	**0.00**	**295**	**296**	**4.08**
23	Gadchiroli	0	0	0.00	0	0	0.00	41	41	3.59
24	Gondia	0	0	0.00	0	0	0.00	56	56	3.98
*	**Gadchiroli Range**	**0**	**0**	**0.00**	**0**	**0**	**0.00**	**97**	**97**	**3.81**
25	Ahmednagar	0	0	0.00	0	0	0.00	106	106	2.21
26	Dhule	0	0	0.00	0	0	0.00	35	35	1.59
27	Jalgaon	0	0	0.00	0	0	0.00	66	66	1.46
28	Nasik Rural	0	0	0.00	0	0	0.00	103	104	2.16
29	Nandurbar	0	0	0.00	0	0	0.00	25	25	1.41
*	**Nasik Range**	**0**	**0**	**0.00**	**0**	**0**	**0.00**	**335**	**336**	**1.85**
30	Raigad	0	0	0.00	0	0	0.00	88	88	4.69
31	Ratnagiri	0	0	0.00	0	0	0.00	48	48	2.97
32	Sindhudurg	0	0	0.00	0	0	0.00	28	28	3.29
33	Thane Rural	0	0	0.00	0	0	0.00	86	86	3.59
34	Palghar	0	0	0.00	0	0	0.00	135	136	4.27
*	**Thane Range**	**0**	**0**	**0.00**	**0**	**0**	**0.00**	**385**	**386**	**3.89**
35	Mumbai Railway	0	0		0	0		5	5	
36	Pune Railway	0	0		0	0		4	4	
37	Nagpur Railway	0	0		0	0		6	6	
*	**Railway Range**	**0**	**0**		**0**	**0**		**15**	**15**	
38	Nagpur Commr.	0	0	0.00	0	0	0.00	166	183	6.14
39	Pune Commr.	0	0	0.00	0	0	0.00	266	270	4.63
40	Thane Commr.	0	0	0.00	0	0	0.00	251	251	4.93
41	Mumbai Commr.	0	0	0.00	0	0	0.00	712	724	5.64
42	Nasik Commr.	0	0	0.00	0	0	0.00	30	30	1.72
43	Aurangabad Commr.	0	0	0.00	0	0	0.00	65	65	4.06
44	Solapur Commr.	0	0	0.00	0	0	0.00	49	49	4.77
45	Navi Mumbai	0	0	0.00	0	0	0.00	104	109	4.86
46	Amravati Commr.	0	0	0.00	0	0	0.00	39	40	4.54
*	**Total Commrs.**	**0**	**0**	**0.00**	**0**	**0**	**0.00**	**1682**	**1721**	**5.02**
*	**Total of M.S**	**0**	**0**	**0.00**	**0**	**0**	**0.00**	**4144**	**4189**	**3.48**

तक्ता क्र. ६ (चालू)

TABLE NO.6 (Continued)

Sr. No.	Unit	Rape						Attempt To Commit Rape		
		Rape Other than Custodial								
		Gang Rape			Other Rape					
		0	V	R	I	V	R	I	V	R
1	2	30	31	32	33	34	35	36	37	38
1	Akola	2	2	0.10	42	42	2.20	0	0	0.00
2	Amravati Rural	9	9	0.41	113	113	5.19	0	0	0.00
3	Buldhana	3	3	0.11	60	60	2.20	0	0	0.00
4	Yavatmal	0	0	0.00	98	98	3.31	2	2	0.07
5	Washim	2	2	0.16	28	28	2.18	0	0	0.00
*	**Amravati Range**	**16**	**16**	**0.14**	**341**	**341**	**3.08**	**2**	**2**	**0.02**
6	Aurangabad Rural	4	4	0.17	41	41	1.73	0	0	0.00
7	Jalna	3	3	0.14	44	44	2.09	0	0	0.00
8	Beed	4	4	0.14	74	75	2.67	0	0	0.00
9	Osmanabad	3	3	0.17	51	51	2.89	0	0	0.00
*	**Aurangabad Range**	**14**	**14**	**0.16**	**210**	**211**	**2.33**	**0**	**0**	**0.00**
10	Nanded	11	11	0.31	59	59	1.64	0	0	0.00
11	Latur	1	1	0.04	53	53	2.01	0	0	0.00
12	Parbhani	2	2	0.10	42	42	2.13	0	0	0.00
13	Hingoli	3	3	0.24	19	19	1.50	0	0	0.00
*	**Nanded Range**	**17**	**17**	**0.18**	**173**	**173**	**1.83**	**0**	**0**	**0.00**
14	Kolhapur	2	2	0.05	91	91	2.21	0	0	0.00
15	Pune Rural	3	3	0.07	178	178	4.00	0	0	0.00
16	Sangli	1	1	0.03	66	67	2.20	0	0	0.00
17	Satara	4	4	0.13	110	110	3.45	1	1	0.03
18	Solapur Rural	3	3	0.08	106	107	2.97	2	2	0.06
*	**Kolhapur Range**	**13**	**13**	**0.07**	**551**	**553**	**3.01**	**3**	**3**	**0.02**
19	Bhandara	1	1	0.08	24	25	1.89	0	0	0.00
20	Chandrapur	8	8	0.34	118	118	5.05	1	1	0.04
21	Nagpur Rural	3	3	0.13	81	81	3.60	0	0	0.00
22	Wardha	7	7	0.51	53	53	3.85	0	0	0.00
*	**Nagpur Range**	**19**	**19**	**0.26**	**276**	**277**	**3.82**	**1**	**1**	**0.01**
23	Gadchiroli	2	2	0.18	39	39	3.42	1	1	0.09
24	Gondia	2	2	0.14	54	54	3.84	0	0	0.00
*	**Gadchiroli Range**	**4**	**4**	**0.16**	**93**	**93**	**3.65**	**1**	**1**	**0.04**
25	Ahmednagar	4	4	0.08	102	102	2.12	1	1	0.02
26	Dhule	2	2	0.09	33	33	1.50	0	0	0.00
27	Jalgaon	1	1	0.02	65	65	1.44	1	1	0.02
28	Nasik Rural	3	3	0.06	100	101	2.10	0	0	0.00
29	Nandurbar	0	0	0.00	25	25	1.41	0	0	0.00
*	**Nasik Range**	**10**	**10**	**0.06**	**325**	**326**	**1.80**	**2**	**2**	**0.01**
30	Raigad	3	3	0.16	85	85	4.53	3	3	0.16
31	Ratnagiri	0	0	0.00	48	48	2.97	0	0	0.00
32	Sindhudurg	2	2	0.24	26	26	3.06	0	0	0.00
33	Thane Rural	2	2	0.08	84	84	3.50	0	0	0.00
34	Palghar	3	3	0.09	132	133	4.18	0	0	0.00
*	**Thane Range**	**10**	**10**	**0.10**	**375**	**376**	**3.79**	**3**	**3**	**0.03**
35	Mumbai Railway	0	0		5	5		0	0	
36	Pune Railway	0	0		4	4		0	0	
37	Nagpur Railway	0	0		6	6		0	0	
*	**Railway Range**	**0**	**0**		**15**	**15**		**0**	**0**	
38	Nagpur Commr.	6	6	0.22	160	177	5.92	1	1	0.04
39	Pune Commr.	2	2	0.03	264	268	4.60	0	0	0.00
40	Thane Commr.	5	5	0.10	246	246	4.84	0	0	0.00
41	Mumbai Commr.	14	14	0.11	698	710	5.53	0	0	0.00
42	Nasik Commr.	1	1	0.06	29	29	1.67	0	0	0.00
43	Aurangabad Commr.	6	6	0.37	59	59	3.68	0	0	0.00
44	Solapur Commr.	2	2	0.19	47	47	4.57	0	0	0.00
45	Navi Mumbai	2	2	0.09	102	107	4.77	0	0	0.00
46	Amravati Commr.	0	0	0.00	39	40	4.54	0	0	0.00
*	**Total Commrs.**	**38**	**38**	**0.11**	**1644**	**1683**	**4.90**	**1**	**1**	**0.00**
*	**Total of M.S**	**141**	**141**	**0.12**	**4003**	**4048**	**3.36**	**13**	**13**	**0.01**

तक्ता क्र. ६ (चालू)

TABLE NO.6 (Continued)

Sr. No.	Unit	Kidnaping & Abduction								
		Kidnapping & Abduction (Total)			Kidnapping & Abduction (Sec. 363 IPC)			Kidnaping & Abduction in order to murder (Section 364 IPC)		
		I	V	R	I	V	R	I	V	R
1	**2**	**39**	**40**	**41**	**42**	**43**	**44**	**45**	**46**	**47**
1	Akola	73	78	3.82	59	64	3.08	0	0	0.00
2	Amravati Rural	122	124	5.61	29	31	1.33	0	0	0.00
3	Buldhana	41	42	1.50	20	20	0.73	1	1	0.04
4	Yavatmal	144	144	4.87	54	54	1.83	0	0	0.00
5	Washim	54	56	4.21	31	33	2.42	0	0	0.00
*	**Amravati Range**	**434**	**444**	**3.92**	**193**	**202**	**1.75**	**1**	**1**	**0.01**
6	Aurangabad Rural	75	75	3.16	36	36	1.52	2	2	0.08
7	Jalna	78	78	3.70	15	15	0.71	0	0	0.00
8	Beed	122	130	4.40	49	57	1.77	0	0	0.00
9	Osmanabad	65	68	3.68	31	32	1.76	0	0	0.00
*	**Aurangabad Range**	**340**	**351**	**3.77**	**131**	**140**	**1.45**	**2**	**2**	**0.02**
10	Nanded	138	149	3.84	0	0	0.00	0	0	0.00
11	Latur	114	114	4.33	0	0	0.00	0	0	0.00
12	Parbhani	108	111	5.48	87	89	4.41	1	1	0.05
13	Hingoli	37	44	2.93	28	35	2.22	0	0	0.00
*	**Nanded Range**	**397**	**418**	**4.19**	**115**	**124**	**1.22**	**1**	**1**	**0.01**
14	Kolhapur	185	187	4.49	15	15	0.36	0	0	0.00
15	Pune Rural	383	421	8.61	297	329	6.68	4	4	0.09
16	Sangli	130	132	4.34	54	56	1.80	0	0	0.00
17	Satara	201	212	6.31	153	164	4.81	0	0	0.00
18	Solapur Rural	138	142	3.86	87	91	2.43	0	0	0.00
*	**Kolhapur Range**	**1037**	**1094**	**5.66**	**606**	**655**	**3.31**	**4**	**4**	**0.02**
19	Bhandara	68	70	5.35	56	57	4.41	0	0	0.00
20	Chandrapur	138	145	5.91	0	0	0.00	0	0	0.00
21	Nagpur Rural	80	80	3.55	64	64	2.84	0	0	0.00
22	Wardha	80	82	5.81	52	54	3.78	0	0	0.00
*	**Nagpur Range**	**366**	**377**	**5.06**	**172**	**175**	**2.38**	**0**	**0**	**0.00**
23	Gadchiroli	22	25	1.93	2	2	0.18	0	0	0.00
24	Gondia	78	78	5.55	57	57	4.05	1	1	0.07
*	**Gadchiroli Range**	**100**	**103**	**3.92**	**59**	**59**	**2.32**	**1**	**1**	**0.04**
25	Ahmednagar	229	229	4.77	133	133	2.77	0	0	0.00
26	Dhule	28	28	1.27	0	0	0.00	0	0	0.00
27	Jalgaon	107	107	2.37	0	0	0.00	1	1	0.02
28	Nasik Rural	177	196	3.72	61	78	1.28	0	0	0.00
29	Nandurbar	27	31	1.52	15	19	0.84	0	0	0.00
*	**Nasik Range**	**568**	**591**		**209**	**230**	**1.16**	**1**	**1**	**0.01**
30	Raigad	75	75	4.00	74	74	3.94	0	0	0.00
31	Ratnagiri	57	62	3.53	53	56	3.28	2	2	0.12
32	Sindhudurg	19	19	2.24	2	2	0.24	0	0	0.00
33	Thane Rural	177	190	7.38	130	143	5.42	0	0	0.00
34	Palghar	409	411	12.94	372	372	11.77	0	0	0.00
*	**Thane Range**	**737**	**757**	**7.44**	**631**	**647**	**6.37**	**2**	**2**	**0.02**
35	Mumbai Railway	23	26		23	26		0	0	
36	Pune Railway	13	14		11	12		0	0	
37	Nagpur Railway	11	11		0	0		0	0	
*	**Railway Range**	**47**	**51**		**34**	**38**		**0**	**0**	
38	Nagpur Commr.	355	383	13.13	315	336	11.65	2	2	0.07
39	Pune Commr.	707	738	12.32	527	535	9.18	2	2	0.03
40	Thane Commr.	793	802	15.59	652	652	12.82	0	0	0.00
41	Mumbai Commr.	1583	1628	12.53	1494	1538	11.83	0	0	0.00
42	Nasik Commr.	166	179	9.53	161	173	9.25	0	0	0.00
43	Aurangabad Commr.	174	193	10.86	111	130	6.93	0	0	0.00
44	Solapur Commr.	77	77	7.49	32	32	3.11	0	0	0.00
45	Navi Mumbai	263	271	12.30	257	265	12.02	0	0	0.00
46	Amravati Commr.	111	119	12.92	89	97	10.36	0	0	0.00
*	**Total Commrs.**	**4229**	**4390**	**12.61**	**3638**	**3758**	**10.85**	**4**	**4**	**0.01**
*	**Total of M.S**	**8255**	**8576**	**6.93**	**5788**	**6028**	**4.86**	**16**	**16**	**0.01**

तक्ता क्र. ६ (चालू)

TABLE NO.6 (Continued)

Sr. No.	Unit	Kidnaping & Abduction						Other Kidnapping & Abduction		
		Kidnaping for Ransom (Section 364-A IPC)			K & A Of Women To Compel Her For Marriage					
		I	V	R	I	V	R	I	V	R
1	2	48	49	50	51	52	53	54	55	56
1	Akola	0	0	0.00	12	12	0.63	2	2	0.10
2	Amravati Rural	0	0	0.00	93	93	4.27	0	0	0.00
3	Buldhana	0	0	0.00	16	16	0.59	4	5	0.15
4	Yavatmal	0	0	0.00	76	76	2.57	14	14	0.47
5	Washim	0	0	0.00	20	20	1.56	3	3	0.23
*	**Amravati Range**	**0**	**0**	**0.00**	**217**	**217**	**1.96**	**23**	**24**	**0.21**
6	Aurangabad Rural	1	1	0.04	20	20	0.84	16	16	0.67
7	Jalna	4	4	0.19	25	25	1.19	34	34	1.61
8	Beed	1	1	0.04	29	29	1.04	43	43	1.55
9	Osmanabad	0	0	0.00	28	28	1.59	6	8	0.34
*	**Aurangabad Range**	**6**	**6**	**0.07**	**102**	**102**	**1.13**	**99**	**101**	**1.10**
10	Nanded	0	0	0.00	48	48	1.33	90	101	2.50
11	Latur	0	0	0.00	58	58	2.20	56	56	2.13
12	Parbhani	1	2	0.05	11	11	0.56	8	8	0.41
13	Hingoli	0	0	0.00	5	5	0.40	4	4	0.32
*	**Nanded Range**	**1**	**2**	**0.01**	**122**	**122**	**1.29**	**158**	**169**	**1.67**
14	Kolhapur	1	1	0.02	90	90	2.18	79	81	1.92
15	Pune Rural	1	1	0.02	44	50	0.99	37	37	0.83
16	Sangli	1	1	0.03	45	45	1.50	30	30	1.00
17	Satara	0	0	0.00	45	45	1.41	3	3	0.09
18	Solapur Rural	1	1	0.03	46	46	1.29	4	4	0.11
*	**Kolhapur Range**	**4**	**4**	**0.02**	**270**	**276**	**1.47**	**153**	**155**	**0.83**
19	Bhandara	0	0	0.00	10	11	0.79	2	2	0.16
20	Chandrapur	1	1	0.04	49	52	2.10	88	92	3.77
21	Nagpur Rural	0	0	0.00	16	16	0.71	0	0	0.00
22	Wardha	0	0	0.00	26	26	1.89	2	2	0.15
*	**Nagpur Range**	**1**	**1**	**0.01**	**101**	**105**	**1.40**	**92**	**96**	**1.27**
23	Gadchiroli	0	0	0.00	15	16	1.31	5	7	0.44
24	Gondia	0	0	0.00	10	10	0.71	10	10	0.71
*	**Gadchiroli Range**	**0**	**0**	**0.00**	**25**	**26**	**0.98**	**15**	**17**	**0.59**
25	Ahmednagar	0	0	0.00	77	77	1.60	19	19	0.40
26	Dhule	0	0	0.00	10	10	0.45	18	18	0.82
27	Jalgaon	0	0	0.00	88	88	1.95	18	18	0.40
28	Nasik Rural	0	0	0.00	60	60	1.26	56	58	1.18
29	Nandurbar	0	0	0.00	12	12	0.67	0	0	0.00
*	**Nasik Range**	**0**	**0**	**0.00**	**247**	**247**	**1.37**	**111**	**113**	**0.61**
30	Raigad	0	0	0.00	0	0	0.00	1	1	0.05
31	Ratnagiri	0	0	0.00	0	0	0.00	2	4	0.12
32	Sindhudurg	0	0	0.00	6	6	0.71	11	11	1.29
33	Thane Rural	0	0	0.00	0	0	0.00	47	47	1.96
34	Palghar	3	3	0.09	1	1	0.03	33	35	1.04
*	**Thane Range**	**3**	**3**	**0.03**	**7**	**7**	**0.07**	**94**	**98**	**0.95**
35	Mumbai Railway	0	0		0	0		0	0	
36	Pune Railway	1	1		0	0		1	1	
37	Nagpur Railway	0	0		0	0		11	11	
*	**Railway Range**	**1**	**1**		**0**	**0**		**12**	**12**	
38	Nagpur Commr.	0	0	0.00	37	44	1.37	1	1	0.04
39	Pune Commr.	8	8	0.14	40	41	0.70	130	152	2.26
40	Thane Commr.	3	3	0.06	7	7	0.14	131	140	2.58
41	Mumbai Commr.	3	3	0.02	13	13	0.10	73	74	0.58
42	Nasik Commr.	1	1	0.06	3	4	0.17	1	1	0.06
43	Aurangabad Commr.	2	2	0.12	19	19	1.19	42	42	2.62
44	Solapur Commr.	0	0	0.00	41	41	3.99	4	4	0.39
45	Navi Mumbai	2	2	0.09	1	1	0.05	3	3	0.14
46	Amravati Commr.	0	0	0.00	18	18	2.10	4	4	0.47
*	**Total Commrs.**	**19**	**19**	**0.06**	**179**	**188**	**0.53**	**389**	**421**	**1.16**
*	**Total of M.S**	**35**	**36**	**0.03**	**1270**	**1290**	**1.07**	**1146**	**1206**	**0.96**

तक्ता क्र. ६ (चालू)

TABLE NO.6 (Continued)

Sr. No.	Unit	Dacoity								
		Total Dacoity			Dacoity with Murder (Section 396 IPC)			Others		
		I	V	R	I	V	R	I	V	R
1	**2**	**57**	**58**	**59**	**60**	**61**	**62**	**63**	**64**	**65**
1	Akola	3	7	0.16	0	0	0.00	3	7	0.16
2	Amravati Rural	10	10	0.46	1	1	0.05	9	9	0.41
3	Buldhana	9	9	0.33	0	0	0.00	9	9	0.33
4	Yavatmal	12	12	0.41	0	0	0.00	15	15	0.51
5	Washim	15	15	1.17	0	0	0.00	12	12	0.94
*	**Amravati Range**	**49**	**53**	**0.44**	**1**	**1**	**0.01**	**48**	**52**	**0.43**
6	Aurangabad Rural	29	29	1.22	1	1	0.04	28	28	1.18
7	Jalna	11	11	0.52	0	0	0.00	11	11	0.52
8	Beed	32	32	1.15	0	0	0.00	32	32	1.15
9	Osmanabad	18	18	1.02	1	1	0.06	17	17	0.96
*	**Aurangabad Range**	**90**	**90**	**1.00**	**2**	**2**	**0.02**	**88**	**88**	**0.98**
10	Nanded	13	13	0.36	1	1	0.03	12	12	0.33
11	Latur	16	16	0.61	0	0	0.00	16	16	0.61
12	Parbhani	3	3	0.15	0	0	0.00	3	3	0.15
13	Hingoli	9	9	0.71	0	0	0.00	9	9	0.71
*	**Nanded Range**	**41**	**41**	**0.43**	**1**	**1**	**0.01**	**40**	**40**	**0.42**
14	Kolhapur	18	18	0.44	0	0	0.00	18	18	0.44
15	Pune Rural	50	53	1.12	1	3	0.02	49	50	1.10
16	Sangli	14	14	0.47	0	0	0.00	14	14	0.47
17	Satara	40	40	1.26	0	0	0.00	40	40	1.26
18	Solapur Rural	30	30	0.84	1	1	0.03	29	29	0.81
*	**Kolhapur Range**	**152**	**155**	**0.83**	**2**	**4**	**0.01**	**150**	**151**	**0.82**
19	Bhandara	0	0	0.00	0	0	0.00	0	0	0.00
20	Chandrapur	5	5	0.21	0	0	0.00	5	5	0.21
21	Nagpur Rural	7	7	0.31	0	0	0.00	7	7	0.31
22	Wardha	2	2	0.15	0	0	0.00	2	2	0.15
*	**Nagpur Range**	**14**	**14**	**0.19**	**0**	**0**	**0.00**	**14**	**14**	**0.19**
23	Gadchiroli	4	4	0.35	0	0	0.00	4	4	0.35
24	Gondia	0	0	0.00	0	0	0.00	0	0	0.00
*	**Gadchiroli Range**	**4**	**4**	**0.16**	**0**	**0**	**0.00**	**4**	**4**	**0.16**
25	Ahmednagar	63	63	1.31	1	1	0.02	62	62	1.29
26	Dhule	21	21	0.95	1	1	0.05	20	20	0.91
27	Jalgaon	36	39	0.80	1	1	0.02	35	38	0.77
28	Nasik Rural	34	103	0.71	0	0	0.00	34	103	0.71
29	Nandurbar	2	2	0.11	0	0	0.00	2	2	0.11
*	**Nasik Range**	**156**	**228**	**0.86**	**3**	**3**	**0.02**	**153**	**225**	**0.85**
30	Raigad	10	10	0.53	0	0	0.00	10	10	0.53
31	Ratnagiri	5	5	0.31	0	0	0.00	5	5	0.31
32	Sindhudurg	1	1	0.12	0	0	0.00	1	1	0.12
33	Thane Rural	9	9	0.38	0	0	0.00	9	9	0.38
34	Palghar	24	24	0.76	0	0	0.00	24	24	0.76
*	**Thane Range**	**49**	**49**	**0.49**	**0**	**0**	**0.00**	**49**	**49**	**0.49**
35	Mumbai Railway	6	6		0	0		6	6	
36	Pune Railway	5	5		0	0		5	5	
37	Nagpur Railway	8	8		0	0		8	8	
*	**Railway Range**	**19**	**19**		**0**	**0**		**19**	**19**	
38	Nagpur Commr.	21	21	0.78	0	0	0.00	21	21	0.78
39	Pune Commr.	40	40	0.70	0	0	0.00	40	40	0.70
40	Thane Commr.	37	37	0.73	1	1	0.02	36	36	0.71
41	Mumbai Commr.	48	49	0.38	0	0	0.00	48	49	0.38
42	Nasik Commr.	10	10	0.57	0	0	0.00	10	10	0.57
43	Aurangabad Commr.	27	27	1.69	0	0	0.00	27	27	1.69
44	Solapur Commr.	9	9	0.88	0	0	0.00	9	9	0.88
45	Navi Mumbai	17	17	0.80	0	0	0.00	17	17	0.80
46	Amravati Commr.	1	1	0.12	0	0	0.00	1	1	0.12
*	**Total Commrs.**	**210**	**211**	**0.63**	**1**	**1**	**0.00**	**209**	**210**	**0.62**
*	**Total of M.S**	**784**	**864**	**0.66**	**10**	**12**	**0.01**	**774**	**852**	**0.65**

तक्ता क्र. ६ (चालू)

TABLE NO.6 (Continued)

Sr. No.	Unit	Making Preparation And Assembly For Committing Dacoity			Robbery			Criminal Trespass/Burglary		
								Criminal Trespass/Burglary Total		
		I	V	R	I	V	R	I	V	R
1	2	66	67	68	69	70	71	72	73	74
1	Akola	0	0	0.00	87	87	4.55	137	137	7.16
2	Amravati Rural	1	1	0.05	55	55	2.53	227	227	10.43
3	Buldhana	1	1	0.04	52	52	1.90	185	185	6.77
4	Yavatmal	2	2	0.07	119	119	4.02	329	329	11.13
5	Washim	0	0	0.00	29	29	2.26	114	114	8.89
*	**Amravati Range**	**4**	**4**	**0.04**	**342**	**342**	**3.09**	**992**	**992**	**8.97**
6	Aurangabad Rural	6	6	0.25	74	74	3.12	237	237	9.99
7	Jalna	7	0	0.33	66	66	3.13	236	236	11.20
8	Beed	6	0	0.22	110	110	3.96	239	239	8.61
9	Osmanabad	4	4	0.23	46	46	2.61	172	172	9.74
*	**Aurangabad Range**	**23**	**10**	**0.25**	**296**	**296**	**3.28**	**884**	**884**	**9.80**
10	Nanded	2	0	0.06	83	83	2.31	249	249	6.92
11	Latur	2	2	0.08	61	61	2.32	190	190	7.22
12	Parbhani	1	1	0.05	37	37	1.88	228	228	11.56
13	Hingoli	1	0	0.08	21	21	1.66	89	89	7.04
*	**Nanded Range**	**6**	**3**	**0.06**	**202**	**202**	**2.13**	**756**	**756**	**7.99**
14	Kolhapur	4	1	0.10	161	161	3.91	318	318	7.72
15	Pune Rural	18	0	0.40	226	226	5.08	647	647	14.55
16	Sangli	3	3	0.10	83	83	2.77	189	195	6.30
17	Satara	5	5	0.16	209	209	6.56	335	335	10.52
18	Solapur Rural	13	13	0.36	65	67	1.82	202	202	5.65
*	**Kolhapur Range**	**43**	**22**	**0.23**	**744**	**746**	**4.06**	**1691**	**1697**	**9.23**
19	Bhandara	0	0	0.00	21	21	1.65	166	166	13.06
20	Chandrapur	1	1	0.04	44	44	1.88	217	217	9.29
21	Nagpur Rural	1	1	0.04	45	45	2.00	295	295	13.11
22	Wardha	4	4	0.29	46	46	3.34	186	186	13.51
*	**Nagpur Range**	**6**	**6**	**0.08**	**156**	**156**	**2.16**	**864**	**864**	**11.95**
23	Gadchiroli	0	0	0.00	8	8	0.70	94	94	8.23
24	Gondia	1	1	0.07	21	21	1.49	101	101	7.18
*	**Gadchiroli Range**	**1**	**1**	**0.04**	**29**	**29**	**1.14**	**195**	**195**	**7.65**
25	Ahmednagar	20	0	0.42	278	278	5.79	448	448	9.33
26	Dhule	6	6	0.27	60	60	2.72	114	114	5.18
27	Jalgaon	9	9	0.20	124	127	2.74	232	232	5.13
28	Nasik Rural	4	0	0.08	115	116	2.41	291	316	6.11
29	Nandurbar	0	0	0.00	23	23	1.29	70	70	3.93
*	**Nasik Range**	**39**	**15**	**0.22**	**600**	**604**	**3.32**	**1155**	**1180**	**6.39**
30	Raigad	3	3	0.16	62	62	3.30	259	259	13.80
31	Ratnagiri	1	0	0.06	42	43	2.60	123	123	7.62
32	Sindhudurg	0	0	0.00	16	16	1.88	85	85	10.00
33	Thane Rural	2	2	0.08	175	175	7.30	336	336	14.02
34	Palghar	8	0	0.25	232	234	7.34	634	634	20.06
*	**Thane Range**	**14**	**5**	**0.14**	**527**	**530**	**5.32**	**1437**	**1437**	**14.52**
35	Mumbai Railway	1	1		531	531		2	2	
36	Pune Railway	2	0		79	80		1	1	
37	Nagpur Railway	0	0		78	78		3	3	
*	**Railway Range**	**3**	**1**		**688**	**689**		**6**	**6**	
38	Nagpur Commr.	27	27	1.00	464	464	17.16	1079	1079	39.90
39	Pune Commr.	28	13	0.49	731	733	12.74	1194	1202	20.80
40	Thane Commr.	13	13	0.26	1202	1202	23.63	1619	1666	31.83
41	Mumbai Commr.	29	29	0.23	1708	1724	13.52	3010	3022	23.83
42	Nasik Commr.	9	9	0.52	187	188	10.74	300	301	17.23
43	Aurangabad Commr.	23	0	1.44	210	210	13.11	349	349	21.79
44	Solapur Commr.	1	0	0.10	85	85	8.27	204	204	19.85
45	Navi Mumbai	6	6	0.28	313	314	14.64	609	609	28.48
46	Amravati Commr.	0	0	0.00	77	77	8.96	237	240	27.59
*	**Total Commrs.**	**136**	**97**	**0.41**	**4977**	**4997**	**14.84**	**8601**	**8672**	**25.65**
*	**Total of M.S**	**275**	**164**	**0.23**	**8561**	**8591**	**7.19**	**16581**	**16683**	**13.92**

तक्ता क्र. ६ (चालू)

TABLE NO.6 (Continued)

Sr. No.	Unit	Criminal Trespass/Burglary						Theft		
		Criminal Trespass/Burglary (Section 457 & 458 IPC)			House Trespass & House Breaking (Section 459 & 460 IPC)			Total Theft		
		I	V	R	I	V	R	I	V	R
1	2	75	76	77	78	79	80	81	82	83
1	Akola	95	95	4.97	42	42	2.20	741	762	38.73
2	Amravati Rural	190	190	8.73	37	37	1.70	1265	1265	58.13
3	Buldhana	137	137	5.01	48	48	1.76	672	672	24.60
4	Yavatmal	262	262	8.86	67	67	2.27	1593	1593	53.88
5	Washim	86	86	6.71	28	28	2.18	485	485	37.84
*	**Amravati Range**	**770**	**770**	**6.96**	**222**	**222**	**2.01**	**4756**	**4777**	**43.00**
6	Aurangabad Rural	202	202	8.52	35	35	1.48	1049	1049	44.23
7	Jalna	165	165	7.83	71	71	3.37	576	576	27.32
8	Beed	194	194	6.99	45	45	1.62	863	870	31.09
9	Osmanabad	150	150	8.50	22	22	1.25	530	530	30.02
*	**Aurangabad Range**	**711**	**711**	**7.88**	**173**	**173**	**1.92**	**3018**	**3025**	**33.46**
10	Nanded	212	212	5.89	37	37	1.03	688	688	19.12
11	Latur	146	146	5.55	44	44	1.67	626	626	23.80
12	Parbhani	191	191	9.69	37	37	1.88	527	527	26.72
13	Hingoli	77	77	6.09	12	12	0.95	153	153	12.10
*	**Nanded Range**	**626**	**626**	**6.61**	**130**	**130**	**1.37**	**1994**	**1994**	**21.07**
14	Kolhapur	265	265	6.43	53	53	1.29	947	947	22.98
15	Pune Rural	537	537	12.07	110	110	2.47	2659	2659	59.78
16	Sangli	165	168	5.50	24	27	0.80	618	619	20.61
17	Satara	277	277	8.70	58	58	1.82	1234	1234	38.76
18	Solapur Rural	184	184	5.15	18	18	0.50	971	972	27.17
*	**Kolhapur Range**	**1428**	**1431**	**7.79**	**263**	**266**	**1.44**	**6429**	**6431**	**35.08**
19	Bhandara	133	133	10.46	33	33	2.60	378	378	29.74
20	Chandrapur	176	176	7.54	41	41	1.76	607	607	26.00
21	Nagpur Rural	210	210	9.33	85	85	3.78	883	883	39.23
22	Wardha	145	145	10.53	41	41	2.98	726	726	52.74
*	**Nagpur Range**	**664**	**664**	**9.18**	**200**	**200**	**2.77**	**2594**	**2594**	**35.86**
23	Gadchiroli	80	80	7.01	14	14	1.23	135	135	11.82
24	Gondia	90	90	6.40	11	11	0.78	310	310	22.05
*	**Gadchiroli Range**	**170**	**170**	**6.67**	**25**	**25**	**0.98**	**445**	**445**	**17.47**
25	Ahmednagar	31	31	0.65	417	417	8.68	1839	1839	38.30
26	Dhule	93	93	4.22	21	21	0.95	360	360	16.35
27	Jalgaon	205	205	4.54	27	27	0.60	917	917	20.29
28	Nasik Rural	266	266	5.59	25	50	0.52	927	927	19.47
29	Nandurbar	69	69	3.88	1	1	0.06	207	207	11.63
*	**Nasik Range**	**664**	**664**	**3.68**	**491**	**516**	**2.72**	**4250**	**4250**	**23.53**
30	Raigad	231	231	12.31	28	28	1.49	585	585	31.17
31	Ratnagiri	84	84	5.20	39	39	2.41	354	354	21.92
32	Sindhudurg	72	72	8.47	13	13	1.53	120	120	14.12
33	Thane Rural	266	266	11.10	70	70	2.92	850	850	35.46
34	Palghar	508	508	16.07	126	126	3.99	1143	1143	36.16
*	**Thane Range**	**1161**	**1161**	**11.73**	**276**	**276**	**2.79**	**3052**	**3052**	**30.83**
35	Mumbai Railway	2	2		0	0		3285	3285	
36	Pune Railway	0	0		1	1		604	612	
37	Nagpur Railway	2	2		1	1		1993	1993	
*	**Railway Range**	**4**	**4**		**2**	**2**		**5882**	**5890**	
38	Nagpur Commr.	869	869	32.14	210	210	7.77	3044	3044	112.57
39	Pune Commr.	855	863	14.90	339	339	5.91	5037	5041	87.75
40	Thane Commr.	1334	1334	26.22	285	332	5.60	3526	3530	69.31
41	Mumbai Commr.	2578	2578	20.41	432	444	3.42	10422	10435	82.52
42	Nasik Commr.	249	250	14.30	51	51	2.93	1164	1164	66.86
43	Aurangabad Commr.	240	240	14.98	109	109	6.80	2220	2232	138.58
44	Solapur Commr.	184	184	17.91	20	20	1.95	785	785	76.39
45	Navi Mumbai	416	416	19.46	193	193	9.03	1324	1328	61.93
46	Amravati Commr.	98	99	11.41	139	141	16.18	1186	1186	138.07
*	**Total Commrs.**	**6823**	**6833**	**20.35**	**1778**	**1839**	**5.30**	**28708**	**28745**	**85.62**
*	**Total of M.S**	**13021**	**13034**	**10.93**	**3560**	**3649**	**2.99**	**61128**	**61203**	**51.31**

तक्ता क्र. ६ (चालू)

TABLE NO.6 (Continued)

Sr. No.	Unit	Theft						Unlawful Assembly		
		Auto Theft			Other Theft					
		I	V	R	I	V	R	I	V	R
1	2	84	85	86	87	88	89	90	91	92
1	Akola	195	195	10.19	546	567	28.54	24	24	1.25
2	Amravati Rural	178	178	8.18	1087	1087	49.95	38	38	1.75
3	Buldhana	162	162	5.93	510	510	18.67	56	56	2.05
4	Yavatmal	281	281	9.50	1312	1312	44.37	53	53	1.79
5	Washim	99	99	7.72	386	386	30.12	33	33	2.57
*	**Amravati Range**	**915**	**915**	**8.27**	**3841**	**3862**	**34.73**	**204**	**204**	**1.84**
6	Aurangabad Rural	339	339	14.29	710	710	29.94	41	41	1.73
7	Jalna	252	252	11.95	324	324	15.37	24	24	1.14
8	Beed	355	355	12.79	508	515	18.30	55	55	1.98
9	Osmanabad	176	176	9.97	354	354	20.05	26	26	1.47
*	**Aurangabad Range**	**1122**	**1122**	**12.44**	**1896**	**1903**	**21.02**	**146**	**146**	**1.62**
10	Nanded	318	318	8.84	370	370	10.28	26	26	0.72
11	Latur	285	285	10.83	341	341	12.96	34	34	1.29
12	Parbhani	193	193	9.79	334	334	16.94	23	25	1.17
13	Hingoli	36	36	2.85	117	117	9.26	10	10	0.79
*	**Nanded Range**	**832**	**832**	**8.79**	**1162**	**1162**	**12.28**	**93**	**95**	**0.98**
14	Kolhapur	509	509	12.35	438	438	10.63	5	5	0.12
15	Pune Rural	1381	1381	31.05	1278	1278	28.73	21	21	0.47
16	Sangli	267	267	8.90	351	352	11.71	12	12	0.40
17	Satara	504	504	15.83	730	730	22.93	3	3	0.09
18	Solapur Rural	348	348	9.74	623	624	17.43	5	5	0.14
*	**Kolhapur Range**	**3009**	**3009**	**16.42**	**3420**	**3422**	**18.66**	**46**	**46**	**0.25**
19	Bhandara	84	84	6.61	294	294	23.13	14	14	1.10
20	Chandrapur	195	195	8.35	412	412	17.65	21	21	0.90
21	Nagpur Rural	196	196	8.71	687	687	30.53	11	11	0.49
22	Wardha	153	153	11.11	573	573	41.63	19	19	1.38
*	**Nagpur Range**	**628**	**628**	**8.68**	**1966**	**1966**	**27.18**	**65**	**65**	**0.90**
23	Gadchiroli	49	49	4.29	86	86	7.53	1	1	0.09
24	Gondia	79	79	5.62	231	231	16.43	8	8	0.57
*	**Gadchiroli Range**	**128**	**128**	**5.02**	**317**	**317**	**12.44**	**9**	**9**	**0.35**
25	Ahmednagar	583	583	12.14	1256	1256	26.16	64	64	1.33
26	Dhule	163	163	7.40	197	197	8.95	4	4	0.18
27	Jalgaon	302	302	6.68	615	615	13.61	6	6	0.13
28	Nasik Rural	359	359	7.54	123	123	2.58	25	140	0.52
29	Nandurbar	84	84	4.72	568	568	31.92	2	2	0.11
*	**Nasik Range**	**1491**	**1491**	**8.25**	**2759**	**2759**	**15.27**	**101**	**216**	**0.56**
30	Raigad	174	174	9.27	411	411	21.90	43	43	2.29
31	Ratnagiri	76	76	4.71	278	278	17.21	5	7	0.31
32	Sindhudurg	28	28	3.29	92	92	10.82	7	7	0.82
33	Thane Rural	379	379	15.81	471	471	19.65	13	13	0.54
34	Palghar	508	508	16.07	635	635	20.09	16	16	0.51
*	**Thane Range**	**1165**	**1165**	**11.77**	**1887**	**1887**	**19.06**	**84**	**86**	**0.85**
35	Mumbai Railway	0	0		3285	3285		4	7	
36	Pune Railway	14	14		590	598		0	0	
37	Nagpur Railway	26	26		1967	1967		1	1	
*	**Railway Range**	**40**	**40**		**5842**	**5850**		**5**	**8**	
38	Nagpur Commr.	1608	1608	59.47	1436	1436	53.11	24	24	0.89
39	Pune Commr.	2690	2694	46.86	2347	2347	40.89	5	5	0.09
40	Thane Commr.	1690	1690	33.22	1836	1840	36.09	7	7	0.14
41	Mumbai Commr.	3311	3317	26.22	7111	7118	56.30	5	5	0.04
42	Nasik Commr.	634	634	36.42	530	530	30.44	4	4	0.23
43	Aurangabad Commr.	900	906	56.18	1320	1326	82.40	38	38	2.37
44	Solapur Commr.	385	385	37.47	400	400	38.93	2	5	0.19
45	Navi Mumbai	594	594	27.78	730	734	34.14	3	3	0.14
46	Amravati Commr.	326	326	37.95	860	860	100.12	68	68	7.92
*	**Total Commrs.**	**12138**	**12154**	**36.20**	**16570**	**16591**	**49.42**	**156**	**159**	**0.47**
*	**Total of M.S**	**21468**	**21484**	**18.02**	**39660**	**39719**	**33.29**	**909**	**1034**	**0.76**

तक्ता क्र. ६ (चालू)

TABLE NO.6 (Continued)

Sr. No.	Unit	Riots								
		Total Riots			Communal			Industrial		
		I	V	R	I	V	R	I	V	R
1	2	93	94	95	96	97	98	99	100	101
1	Akola	70	108	3.66	7	15	0.37	0	0	0.00
2	Amravati Rural	49	49	2.25	0	0	0.00	0	0	0.00
3	Buldhana	186	186	6.81	22	22	0.81	0	0	0.00
4	Yavatmal	146	146	4.94	12	12	0.41	1	1	0.03
5	Washim	73	73	5.70	13	13	1.01	0	0	0.00
*	**Amravati Range**	**524**	**562**	**4.74**	**54**	**62**	**0.49**	**1**	**1**	**0.01**
6	Aurangabad Rural	290	290	12.23	0	0	0.00	0	0	0.00
7	Jalna	192	192	9.11	0	0	0.00	0	0	0.00
8	Beed	321	481	11.56	0	0	0.00	0	0	0.00
9	Osmanabad	196	196	11.10	2	2	0.11	0	0	0.00
*	**Aurangabad Range**	**999**	**1159**	**11.07**	**2**	**2**	**0.02**	**0**	**0**	**0.00**
10	Nanded	200	248	5.56	2	9	0.06	0	0	0.00
11	Latur	189	189	7.18	0	0	0.00	0	0	0.00
12	Parbhani	132	143	6.69	0	0	0.00	0	0	0.00
13	Hingoli	121	121	9.57	0	0	0.00	0	0	0.00
*	**Nanded Range**	**642**	**701**	**6.78**	**2**	**9**	**0.02**	**0**	**0**	**0.00**
14	Kolhapur	383	505	9.29	0	0	0.00	0	0	0.00
15	Pune Rural	628	637	14.12	0	0	0.00	1	1	0.02
16	Sangli	263	379	8.77	0	0	0.00	0	0	0.00
17	Satara	355	355	11.15	0	0	0.00	0	0	0.00
18	Solapur Rural	412	614	11.53	1	1	0.03	0	0	0.00
*	**Kolhapur Range**	**2041**	**2490**	**11.14**	**1**	**1**	**0.01**	**1**	**1**	**0.01**
19	Bhandara	19	25	1.49	0	0	0.00	0	0	0.00
20	Chandrapur	66	66	2.83	0	0	0.00	0	0	0.00
21	Nagpur Rural	44	44	1.96	0	0	0.00	0	0	0.00
22	Wardha	41	52	2.98	0	0	0.00	0	0	0.00
*	**Nagpur Range**	**170**	**187**	**2.35**	**0**	**0**	**0.00**	**0**	**0**	**0.00**
23	Gadchiroli	24	26	2.10	0	0	0.00	0	0	0.00
24	Gondia	7	7	0.50	0	0	0.00	0	0	0.00
*	**Gadchiroli Range**	**31**	**33**	**1.22**	**0**	**0**	**0.00**	**0**	**0**	**0.00**
25	Ahmednagar	554	554	11.54	0	0	0.00	0	0	0.00
26	Dhule	143	143	6.49	0	0	0.00	0	0	0.00
27	Jalgaon	289	319	6.40	12	21	0.27	0	0	0.00
28	Nasik Rural	454	473	9.53	0	0	0.00	0	0	0.00
29	Nandurbar	91	105	5.11	4	4	0.22	0	0	0.00
*	**Nasik Range**	**1531**	**1594**	**8.48**	**16**	**25**	**0.09**	**0**	**0**	**0.00**
30	Raigad	156	156	8.31	3	3	0.16	2	2	0.11
31	Ratnagiri	90	93	5.57	1	1	0.06	0	0	0.00
32	Sindhudurg	33	33	3.88	0	0	0.00	0	0	0.00
33	Thane Rural	225	225	9.39	0	0	0.00	0	0	0.00
34	Palghar	196	224	6.20	0	0	0.00	0	0	0.00
*	**Thane Range**	**700**	**731**	**7.07**	**4**	**4**	**0.04**	**2**	**2**	**0.02**
35	Mumbai Railway	4	4		0	0		0	0	
36	Pune Railway	2	2		0	0		0	0	
37	Nagpur Railway	6	6		0	0		0	0	
*	**Railway Range**	**12**	**12**		**0**	**0**		**0**	**0**	
38	Nagpur Commr.	142	142	5.25	0	0	0.00	0	0	0.00
39	Pune Commr.	259	268	4.51	0	0	0.00	0	0	0.00
40	Thane Commr.	414	452	8.14	0	0	0.00	0	0	0.00
41	Mumbai Commr.	396	429	3.14	0	0	0.00	1	1	0.01
42	Nasik Commr.	77	77	4.42	0	0	0.00	1	1	0.06
43	Aurangabad Commr.	145	145	9.05	0	0	0.00	0	0	0.00
44	Solapur Commr.	135	135	13.14	1	1	0.10	0	0	0.00
45	Navi Mumbai	102	121	4.77	0	0	0.00	0	0	0.00
46	Amravati Commr.	16	21	1.86	0	0	0.00	0	0	0.00
*	**Total Commrs.**	**1686**	**1790**	**5.03**	**1**	**1**	**0.00**	**2**	**2**	**0.01**
*	**Total of M.S**	**8336**	**9259**	**7.00**	**80**	**104**	**0.07**	**6**	**6**	**0.01**

तक्ता क्र. ६ (चालू)

TABLE NO.6 (Continued)

Sr. No.	Unit	Riots								
		Total Riots (Caste conflict)			SCs/STs VS Non-SCs/STs			Other caste conflict		
		I	V	R	I	V	R	I	V	R
1	2	105	106	107	108	109	110	111	112	113
1	Akola	1	3	0.05	1	3	0.05	0	0	0.00
2	Amravati Rural	0	0	0.00	0	0	0.00	0	0	0.00
3	Buldhana	6	6	0.22	6	6	0.22	0	0	0.00
4	Yavatmal	67	67	2.27	1	1	0.03	66	66	2.23
5	Washim	0	0	0.00	0	0	0.00	0	0	0.00
*	**Amravati Range**	**74**	**76**	**0.67**	**8**	**10**	**0.07**	**66**	**66**	**0.60**
6	Aurangabad Rural	2	2	0.08	2	2	0.08	0	0	0.00
7	Jalna	0	0	0.00	0	0	0.00	0	0	0.00
8	Beed	19	20	0.68	19	20	0.68	0	0	0.00
9	Osmanabad	0	0	0.00	0	0	0.00	0	0	0.00
*	**Aurangabad Range**	**21**	**22**	**0.23**	**21**	**22**	**0.23**	**0**	**0**	**0.00**
10	Nanded	19	40	0.53	19	40	0.53	0	0	0.00
11	Latur	17	17	0.65	0	0	0.00	17	17	0.65
12	Parbhani	11	11	0.56	11	11	0.56	0	0	0.00
13	Hingoli	0	0	0.00	0	0	0.00	0	0	0.00
*	**Nanded Range**	**47**	**68**	**0.50**	**30**	**51**	**0.32**	**17**	**17**	**0.18**
14	Kolhapur	2	2	0.05	2	2	0.05	0	0	0.00
15	Pune Rural	1	1	0.02	1	1	0.02	0	0	0.00
16	Sangli	0	0	0.00	0	0	0.00	0	0	0.00
17	Satara	0	0	0.00	0	0	0.00	0	0	0.00
18	Solapur Rural	20	20	0.56	20	20	0.56	0	0	0.00
*	**Kolhapur Range**	**23**	**23**	**0.13**	**23**	**23**	**0.13**	**0**	**0**	**0.00**
19	Bhandara	0	0	0.00	0	0	0.00	0	0	0.00
20	Chandrapur	0	0	0.00	0	0	0.00	0	0	0.00
21	Nagpur Rural	0	0	0.00	0	0	0.00	0	0	0.00
22	Wardha	0	0	0.00	0	0	0.00	0	0	0.00
*	**Nagpur Range**	**0**	**0**	**0.00**	**0**	**0**	**0.00**	**0**	**0**	**0.00**
23	Gadchiroli	0	0	0.00	0	0	0.00	0	0	0.00
24	Gondia	0	0	0.00	0	0	0.00	0	0	0.00
*	**Gadchiroli Range**	**0**	**0**	**0.00**	**0**	**0**	**0.00**	**0**	**0**	**0.00**
25	Ahmednagar	0	0	0.00	0	0	0.00	0	0	0.00
26	Dhule	9	9	0.41	9	9	0.41	0	0	0.00
27	Jalgaon	0	0	0.00	0	0	0.00	0	0	0.00
28	Nasik Rural	0	0	0.00	0	0	0.00	0	0	0.00
29	Nandurbar	5	6	0.28	5	6	0.28	0	0	0.00
*	**Nasik Range**	**14**	**15**	**0.08**	**14**	**15**	**0.08**	**0**	**0**	**0.00**
30	Raigad	7	7	0.37	7	7	0.37	0	0	0.00
31	Ratnagiri	0	0	0.00	0	0	0.00	0	0	0.00
32	Sindhudurg	0	0	0.00	0	0	0.00	0	0	0.00
33	Thane Rural	5	5	0.21	5	5	0.21	0	0	0.00
34	Palghar	0	0	0.00	0	0	0.00	0	0	0.00
*	**Thane Range**	**12**	**12**	**0.12**	**12**	**12**	**0.12**	**0**	**0**	**0.00**
35	Mumbai Railway	0	0		0	0		0	0	
36	Pune Railway	0	0		0	0		0	0	
37	Nagpur Railway	0	0		0	0		0	0	
*	**Railway Range**	**0**	**0**		**0**	**0**		**0**	**0**	
38	Nagpur Commr.	0	0	0.00	0	0	0.00	0	0	0.00
39	Pune Commr.	0	0	0.00	0	0	0.00	0	0	0.00
40	Thane Commr.	0	0	0.00	0	0	0.00	0	0	0.00
41	Mumbai Commr.	10	10	0.08	4	4	0.03	6	6	0.05
42	Nasik Commr.	0	0	0.00	0	0	0.00	0	0	0.00
43	Aurangabad Commr.	2	2	0.12	0	0	0.00	2	2	0.12
44	Solapur Commr.	1	1	0.10	1	1	0.10	0	0	0.00
45	Navi Mumbai	0	0	0.00	0	0	0.00	0	0	0.00
46	Amravati Commr.	0	0	0.00	0	0	0.00	0	0	0.00
*	**Total Commrs.**	**13**	**13**	**0.04**	**5**	**5**	**0.01**	**8**	**8**	**0.02**
*	**Total of M.S**	**204**	**229**	**0.17**	**113**	**138**	**0.09**	**91**	**91**	**0.08**

तक्ता क्र. ६ (चालू)

TABLE NO.6 (Continued)

Sr. No.	Unit	Riots								
		Agrarian			Students			Sectarian		
		I	V	R	I	V	R	I	V	R
1	2	114	115	116	117	118	119	120	121	122
1	Akola	0	0	0.00	0	0	0.00	0	0	0.00
2	Amravati Rural	0	0	0.00	0	0	0.00	0	0	0.00
3	Buldhana	0	0	0.00	0	0	0.00	0	0	0.00
4	Yavatmal	0	0	0.00	0	0	0.00	0	0	0.00
5	Washim	1	1	0.08	0	0	0.00	0	0	0.00
*	**Amravati Range**	**1**	**1**	**0.01**	**0**	**0**	**0.00**	**0**	**0**	**0.00**
6	Aurangabad Rural	0	0	0.00	0	0	0.00	0	0	0.00
7	Jalna	0	0	0.00	0	0	0.00	0	0	0.00
8	Beed	6	9	0.22	0	0	0.00	0	0	0.00
9	Osmanabad	30	30	1.70	0	0	0.00	0	0	0.00
*	**Aurangabad Range**	**36**	**39**	**0.40**	**0**	**0**	**0.00**	**0**	**0**	**0.00**
10	Nanded	0	0	0.00	0	0	0.00	0	0	0.00
11	Latur	0	0	0.00	0	0	0.00	0	0	0.00
12	Parbhani	0	0	0.00	0	0	0.00	0	0	0.00
13	Hingoli	0	0	0.00	0	0	0.00	0	0	0.00
*	**Nanded Range**	**0**	**0**	**0.00**	**0**	**0**	**0.00**	**0**	**0**	**0.00**
14	Kolhapur	0	0	0.00	0	0	0.00	0	0	0.00
15	Pune Rural	0	0	0.00	1	1	0.02	0	0	0.00
16	Sangli	0	0	0.00	0	0	0.00	0	0	0.00
17	Satara	0	0	0.00	0	0	0.00	0	0	0.00
18	Solapur Rural	0	0	0.00	0	0	0.00	0	0	0.00
*	**Kolhapur Range**	**0**	**0**	**0.00**	**1**	**1**	**0.01**	**0**	**0**	**0.00**
19	Bhandara	0	0	0.00	0	0	0.00	0	0	0.00
20	Chandrapur	0	0	0.00	0	0	0.00	0	0	0.00
21	Nagpur Rural	0	0	0.00	0	0	0.00	0	0	0.00
22	Wardha	0	0	0.00	0	0	0.00	0	0	0.00
*	**Nagpur Range**	**0**	**0**	**0.00**	**0**	**0**	**0.00**	**0**	**0**	**0.00**
23	Gadchiroli	3	3	0.26	0	0	0.00	0	0	0.00
24	Gondia	0	0	0.00	0	0	0.00	0	0	0.00
*	**Gadchiroli Range**	**3**	**3**	**0.12**	**0**	**0**	**0.00**	**0**	**0**	**0.00**
25	Ahmednagar	0	0	0.00	0	0	0.00	0	0	0.00
26	Dhule	9	9	0.41	0	0	0.00	0	0	0.00
27	Jalgaon	0	0	0.00	0	0	0.00	0	0	0.00
28	Nasik Rural	6	10	0.13	0	0	0.00	0	0	0.00
29	Nandurbar	8	8	0.45	0	0	0.00	0	0	0.00
*	**Nasik Range**	**23**	**27**	**0.13**	**0**	**0**	**0.00**	**0**	**0**	**0.00**
30	Raigad	2	2	0.11	0	0	0.00	0	0	0.00
31	Ratnagiri	1	1	0.06	0	0	0.00	0	0	0.00
32	Sindhudurg	0	0	0.00	0	0	0.00	0	0	0.00
33	Thane Rural	5	5	0.21	0	0	0.00	0	0	0.00
34	Palghar	13	13	0.41	0	0	0.00	0	0	0.00
*	**Thane Range**	**21**	**21**	**0.21**	**0**	**0**	**0.00**	**0**	**0**	**0.00**
35	Mumbai Railway	0	0		0	0		0	0	
36	Pune Railway	0	0		0	0		0	0	
37	Nagpur Railway	0	0		0	0		0	0	
*	**Railway Range**	**0**	**0**		**0**	**0**		**0**	**0**	
38	Nagpur Commr.	0	0	0.00	0	0	0.00	0	0	0.00
39	Pune Commr.	0	0	0.00	1	1	0.02	0	0	0.00
40	Thane Commr.	0	0	0.00	0	0	0.00	0	0	0.00
41	Mumbai Commr.	0	0	0.00	0	0	0.00	0	0	0.00
42	Nasik Commr.	0	0	0.00	0	0	0.00	0	0	0.00
43	Aurangabad Commr.	0	0	0.00	0	0	0.00	0	0	0.00
44	Solapur Commr.	1	1	0.10	0	0	0.00	0	0	0.00
45	Navi Mumbai	0	0	0.00	0	0	0.00	0	0	0.00
46	Amravati Commr.	0	0	0.00	0	0	0.00	0	0	0.00
*	**Total Commrs.**	**1**	**1**	**0.00**	**1**	**1**	**0.00**	**0**	**0**	**0.00**
*	**Total of M.S**	**85**	**92**	**0.07**	**2**	**2**	**0.00**	**0**	**0**	**0.00**

तक्ता क्र. ६ (चालू)

TABLE NO.6 (Continued)

Sr. No.	Unit	Riots			Criminal Breach of Trust			Cheating		
		Riots Others (excluding previous columns)								
		I	V	R	I	V	R	I	V	R
1	**2**	**123**	**124**	**125**	**126**	**127**	**128**	**129**	**130**	**131**
1	Akola	62	90	3.24	13	13	0.68	93	93	4.86
2	Amravati Rural	49	49	2.25	14	14	0.64	87	87	4.00
3	Buldhana	158	158	5.78	14	14	0.51	103	103	3.77
4	Yavatmal	66	66	2.23	27	27	0.91	147	147	4.97
5	Washim	59	59	4.60	12	12	0.94	63	63	4.92
*	**Amravati Range**	**394**	**422**	**3.56**	**80**	**80**	**0.72**	**493**	**493**	**4.46**
6	Aurangabad Rural	288	288	12.14	7	7	0.30	106	106	4.47
7	Jalna	192	192	9.11	7	7	0.33	118	118	5.60
8	Beed	296	452	10.66	34	34	1.22	94	94	3.39
9	Osmanabad	164	164	9.29	19	19	1.08	106	106	6.00
*	**Aurangabad Range**	**940**	**1096**	**10.42**	**67**	**67**	**0.74**	**424**	**424**	**4.70**
10	Nanded	179	199	4.97	22	22	0.61	150	150	4.17
11	Latur	172	172	6.54	18	18	0.68	105	105	3.99
12	Parbhani	121	132	6.14	6	6	0.30	132	132	6.69
13	Hingoli	121	121	9.57	9	9	0.71	23	23	1.82
*	**Nanded Range**	**593**	**624**	**6.27**	**55**	**55**	**0.58**	**410**	**410**	**4.33**
14	Kolhapur	368	474	8.93	56	56	1.36	284	284	6.89
15	Pune Rural	600	608	13.49	47	47	1.06	308	310	6.92
16	Sangli	261	377	8.70	23	25	0.77	162	208	5.40
17	Satara	342	342	10.74	29	29	0.91	177	177	5.56
18	Solapur Rural	391	593	10.94	14	14	0.39	41	41	1.15
*	**Kolhapur Range**	**1962**	**2394**	**10.71**	**169**	**171**	**0.92**	**972**	**1020**	**5.30**
19	Bhandara	19	25	1.49	9	9	0.71	42	42	3.30
20	Chandrapur	66	66	2.83	33	33	1.41	92	92	3.94
21	Nagpur Rural	44	44	1.96	21	21	0.93	55	55	2.44
22	Wardha	41	52	2.98	24	24	1.74	96	96	6.97
*	**Nagpur Range**	**170**	**187**	**2.35**	**87**	**87**	**1.20**	**285**	**285**	**3.94**
23	Gadchiroli	20	22	1.75	5	5	0.44	37	37	3.24
24	Gondia	7	7	0.50	10	10	0.71	62	62	4.41
*	**Gadchiroli Range**	**27**	**29**	**1.06**	**15**	**15**	**0.59**	**99**	**99**	**3.89**
25	Ahmednagar	554	554	11.54	26	26	0.54	167	167	3.48
26	Dhule	123	123	5.59	44	44	2.00	60	60	2.72
27	Jalgaon	271	289	6.00	83	84	1.84	154	157	3.41
28	Nasik Rural	448	463	9.41	30	30	0.63	179	179	3.76
29	Nandurbar	68	81	3.82	5	5	0.28	19	401	1.07
*	**Nasik Range**	**1464**	**1510**	**8.10**	**188**	**189**	**1.04**	**579**	**964**	**3.21**
30	Raigad	139	139	7.41	36	36	1.92	200	200	10.66
31	Ratnagiri	80	83	4.95	15	15	0.93	89	91	5.51
32	Sindhudurg	33	33	3.88	11	11	1.29	17	17	2.00
33	Thane Rural	215	215	8.97	28	28	1.17	259	259	10.81
34	Palghar	178	206	5.63	43	43	1.36	267	267	8.45
*	**Thane Range**	**645**	**676**	**6.52**	**133**	**133**	**1.34**	**832**	**834**	**8.40**
35	Mumbai Railway	4	4		6	6		78	78	
36	Pune Railway	2	2		1	1		6	6	
37	Nagpur Railway	6	6		7	7		4	4	
*	**Railway Range**	**12**	**12**		**14**	**14**		**88**	**88**	
38	Nagpur Commr.	142	142	5.25	73	73	2.70	313	313	11.58
39	Pune Commr.	257	266	4.48	108	109	1.88	784	818	13.66
40	Thane Commr.	409	447	8.04	107	108	2.10	931	940	18.30
41	Mumbai Commr.	384	417	3.04	761	776	6.03	2937	2969	23.25
42	Nasik Commr.	75	75	4.31	17	17	0.98	161	162	9.25
43	Aurangabad Commr.	143	143	8.93	56	56	3.50	362	365	22.60
44	Solapur Commr.	132	132	12.85	15	15	1.46	108	108	10.51
45	Navi Mumbai	97	115	4.54	71	71	3.32	577	577	26.99
46	Amravati Commr.	15	20	1.75	26	44	3.03	135	189	15.72
*	**Total Commrs.**	**1654**	**1757**	**4.93**	**1234**	**1269**	**3.68**	**6308**	**6441**	**18.81**
*	**Total of M.S**	**7861**	**8707**	**6.60**	**2042**	**2080**	**1.71**	**10490**	**11058**	**8.80**

तक्ता क्र. ६ (चालू)

TABLE NO.6 (Continued)

Sr. No.	Unit	Forgery			Counterfeiting					
					Counterfeiting Total			Offences Related To Counterfeit Coin (Section 231-235,237, 238-240 & 242-243 IPC)		
		I	V	R	I	V	R	I	V	R
1	2	132	133	134	135	136	137	138	139	140
1	Akola	2	7	0.10	3	3	0.16	0	0	0.00
2	Amravati Rural	0	0	0.00	0	0	0.00	0	0	0.00
3	Buldhana	0	0	0.00	9	9	0.33	0	0	0.00
4	Yavatmal	0	0	0.00	2	2	0.07	0	0	0.00
5	Washim	0	0	0.00	1	1	0.08	0	0	0.00
*	**Amravati Range**	**2**	**7**	**0.02**	**15**	**15**	**0.14**	**0**	**0**	**0.00**
6	Aurangabad Rural	2	2	0.08	0	0	0.00	0	0	0.00
7	Jalna	0	0	0.00	0	0	0.00	0	0	0.00
8	Beed	2	2	0.07	1	0	0.04	0	0	0.00
9	Osmanabad	0	0	0.00	1	0	0.06	0	0	0.00
*	**Aurangabad Range**	**4**	**4**	**0.04**	**2**	**0**	**0.02**	**0**	**0**	**0.00**
10	Nanded	3	3	0.08	3	0	0.08	0	0	0.00
11	Latur	0	0	0.00	0	0	0.00	0	0	0.00
12	Parbhani	0	0	0.00	1	0	0.05	0	0	0.00
13	Hingoli	0	0	0.00	0	0	0.00	0	0	0.00
*	**Nanded Range**	**3**	**3**	**0.03**	**4**	**0**	**0.04**	**0**	**0**	**0.00**
14	Kolhapur	0	0	0.00	0	0	0.00	0	0	0.00
15	Pune Rural	0	0	0.00	5	5	0.11	0	0	0.00
16	Sangli	2	2	0.07	5	5	0.17	0	0	0.00
17	Satara	13	13	0.41	4	4	0.13	0	0	0.00
18	Solapur Rural	71	80	1.99	4	4	0.11	0	0	0.00
*	**Kolhapur Range**	**86**	**95**	**0.47**	**18**	**18**	**0.10**	**0**	**0**	**0.00**
19	Bhandara	1	1	0.08	1	1	0.08	0	0	0.00
20	Chandrapur	0	0	0.00	1	1	0.04	0	0	0.00
21	Nagpur Rural	0	0	0.00	2	2	0.09	0	0	0.00
22	Wardha	1	1	0.07	4	4	0.29	0	0	0.00
*	**Nagpur Range**	**2**	**2**	**0.03**	**8**	**8**	**0.11**	**0**	**0**	**0.00**
23	Gadchiroli	0	0	0.00	1	1	0.09	0	0	0.00
24	Gondia	0	0	0.00	1	1	0.07	0	0	0.00
*	**Gadchiroli Range**	**0**	**0**	**0.00**	**2**	**2**	**0.08**	**0**	**0**	**0.00**
25	Ahmednagar	0	0	0.00	1	1	0.02	0	0	0.00
26	Dhule	0	0	0.00	1	1	0.05	0	0	0.00
27	Jalgaon	0	0	0.00	3	3	0.07	0	0	0.00
28	Nasik Rural	0	0	0.00	1	0	0.02	0	0	0.00
29	Nandurbar	4	4	0.22	1	1	0.06	0	0	0.00
*	**Nasik Range**	**4**	**4**	**0.02**	**7**	**6**	**0.04**	**0**	**0**	**0.00**
30	Raigad	4	4	0.21	3	3	0.16	0	0	0.00
31	Ratnagiri	3	3	0.19	1	1	0.06	0	0	0.00
32	Sindhudurg	13	13	1.53	7	7	0.82	0	0	0.00
33	Thane Rural	1	1	0.04	0	0	0.00	0	0	0.00
34	Palghar	8	8	0.25	5	0	0.16	0	0	0.00
*	**Thane Range**	**29**	**29**	**0.29**	**16**	**11**	**0.16**	**0**	**0**	**0.00**
35	Mumbai Railway	0	0		1	1		0	0	
36	Pune Railway	0	0		0	0		0	0	
37	Nagpur Railway	0	0		6	6		0	0	
*	**Railway Range**	**0**	**0**		**7**	**7**		**0**	**0**	
38	Nagpur Commr.	77	77	2.85	1	0	0.04	0	0	0.00
39	Pune Commr.	3	3	0.05	12	10	0.21	0	0	0.00
40	Thane Commr.	5	5	0.10	13	13	0.26	0	0	0.00
41	Mumbai Commr.	754	708	5.97	50	45	0.40	0	0	0.00
42	Nasik Commr.	1	1	0.06	16	9	0.92	0	0	0.00
43	Aurangabad Commr.	2	2	0.12	3	0	0.19	0	0	0.00
44	Solapur Commr.	0	0	0.00	3	3	0.29	0	0	0.00
45	Navi Mumbai	5	5	0.23	10	10	0.47	0	0	0.00
46	Amravati Commr.	34	37	3.96	3	3	0.35	0	0	0.00
*	**Total Commrs.**	**881**	**838**	**2.63**	**111**	**93**	**0.33**	**0**	**0**	**0.00**
*	**Total of M.S**	**1011**	**982**	**0.85**	**190**	**160**	**0.16**	**0**	**0**	**0.00**

तक्ता क्र. ६ (चालू)

TABLE NO.6 (Continued)

Sr. No.	Unit	Counterfeiting								
		Counterfeiting Government Stamp (Section 255 IPC)			Counterfeit Currency & Bank Notes (Section 489-A To 489-E IPC) Counterfeit Currency & Bank Notes Total			Counterfeit Currency Counterfeiting Currency- Notes Or Bank Notes (Section 489A IPC)		
		I	V	R	I	V	R	I	V	R
1	2	141	142	143	144	145	146	147	148	149
1	Akola	0	0	0.00	3	3	0.16	0	0	0.00
2	Amravati Rural	0	0	0.00	0	0	0.00	0	0	0.00
3	Buldhana	0	0	0.00	9	9	0.33	5	5	0.18
4	Yavatmal	0	0	0.00	2	2	0.07	2	2	0.07
5	Washim	0	0	0.00	1	1	0.08	1	1	0.08
*	**Amravati Range**	**0**	**0**	**0.00**	**15**	**15**	**0.14**	**8**	**8**	**0.07**
6	Aurangabad Rural	0	0	0.00	0	0	0.00	0	0	0.00
7	Jalna	0	0	0.00	0	0	0.00	0	0	0.00
8	Beed	0	0	0.00	1	0	0.04	0	0	0.00
9	Osmanabad	0	0	0.00	1	0	0.06	1	0	0.06
*	**Aurangabad Range**	**0**	**0**	**0.00**	**2**	**0**	**0.02**	**1**	**0**	**0.01**
10	Nanded	0	0	0.00	3	0	0.08	3	0	0.08
11	Latur	0	0	0.00	0	0	0.00	0	0	0.00
12	Parbhani	0	0	0.00	1	0	0.05	0	0	0.00
13	Hingoli	0	0	0.00	0	0	0.00	0	0	0.00
*	**Nanded Range**	**0**	**0**	**0.00**	**4**	**0**	**0.04**	**3**	**0**	**0.03**
14	Kolhapur	0	0	0.00	0	0	0.00	0	0	0.00
15	Pune Rural	0	0	0.00	5	5	0.11	1	1	0.02
16	Sangli	0	0	0.00	5	5	0.17	0	0	0.00
17	Satara	0	0	0.00	4	4	0.13	1	1	0.03
18	Solapur Rural	0	0	0.00	4	4	0.11	0	0	0.00
*	**Kolhapur Range**	**0**	**0**	**0.00**	**18**	**18**	**0.10**	**2**	**2**	**0.01**
19	Bhandara	0	0	0.00	1	1	0.08	1	1	0.08
20	Chandrapur	0	0	0.00	1	1	0.04	0	0	0.00
21	Nagpur Rural	0	0	0.00	2	2	0.09	2	2	0.09
22	Wardha	0	0	0.00	4	4	0.29	0	0	0.00
*	**Nagpur Range**	**0**	**0**	**0.00**	**8**	**8**	**0.11**	**3**	**3**	**0.04**
23	Gadchiroli	0	0	0.00	1	1	0.09	0	0	0.00
24	Gondia	0	0	0.00	1	1	0.07	1	1	0.07
*	**Gadchiroli Range**	**0**	**0**	**0.00**	**2**	**2**	**0.08**	**1**	**1**	**0.04**
25	Ahmednagar	0	0	0.00	1	1	0.02	1	1	0.02
26	Dhule	0	0	0.00	1	1	0.05	1	1	0.05
27	Jalgaon	0	0	0.00	3	3	0.07	3	3	0.07
28	Nasik Rural	0	0	0.00	1	0	0.02	1	0	0.02
29	Nandurbar	0	0	0.00	1	1	0.06	1	1	0.06
*	**Nasik Range**	**0**	**0**	**0.00**	**7**	**6**	**0.04**	**7**	**6**	**0.04**
30	Raigad	0	0	0.00	3	3	0.16	0	0	0.00
31	Ratnagiri	0	0	0.00	1	1	0.06	1	1	0.06
32	Sindhudurg	0	0	0.00	7	7	0.82	0	0	0.00
33	Thane Rural	0	0	0.00	0	0	0.00	0	0	0.00
34	Palghar	0	0	0.00	5	0	0.16	0	0	0.00
*	**Thane Range**	**0**	**0**	**0.00**	**16**	**11**	**0.16**	**1**	**1**	**0.01**
35	Mumbai Railway	0	0		1	1		0	0	
36	Pune Railway	0	0		0	0		0	0	
37	Nagpur Railway	0	0		6	6		0	0	
*	**Railway Range**	**0**	**0**		**7**	**7**		**0**	**0**	
38	Nagpur Commr.	0	0	0.00	1	0	0.04	1	0	0.04
39	Pune Commr.	0	0	0.00	12	10	0.21	12	10	0.21
40	Thane Commr.	0	0	0.00	13	13	0.26	13	13	0.26
41	Mumbai Commr.	0	0	0.00	50	45	0.40	13	13	0.10
42	Nasik Commr.	0	0	0.00	16	9	0.92	15	8	0.86
43	Aurangabad Commr.	0	0	0.00	3	0	0.19	3	0	0.19
44	Solapur Commr.	0	0	0.00	3	3	0.29	0	0	0.00
45	Navi Mumbai	0	0	0.00	10	10	0.47	3	3	0.14
46	Amravati Commr.	0	0	0.00	3	3	0.35	3	3	0.35
*	**Total Commrs.**	**0**	**0**	**0.00**	**111**	**93**	**0.33**	**63**	**50**	**0.19**
*	**Total of M.S**	**0**	**0**	**0.00**	**190**	**160**	**0.16**	**89**	**71**	**0.07**

तक्ता क्र. ६ (चालू)

TABLE NO.6 (Continued)

Sr. No.	Unit	Counterfeiting								
		Counterfeiting & Bank Notes (Section 489-A To 489-E IPC)						Counterfeit Currency		
		Using As Genuine, Forged Or Counterfeiting Currency / Bank Notes (Section 489B IPC)			Possession Of Forged Or Counterfeiting Currency / Bank Notes (Section 489C IPC)			Making Or Possessing Materials For Forged Or Counterfeiting Currency / Bank Notes (Section 489D IPC)		
		I	V	R	I	V	R	I	V	R
1	2	150	151	152	153	154	155	156	157	158
1	Akola	3	3	0.16	0	0	0.00	0	0	0.00
2	Amravati Rural	0	0	0.00	0	0	0.00	0	0	0.00
3	Buldhana	3	3	0.11	0	0	0.00	0	0	0.00
4	Yavatmal	0	0	0.00	0	0	0.00	0	0	0.00
5	Washim	0	0	0.00	0	0	0.00	0	0	0.00
*	**Amravati Range**	**6**	**6**	**0.05**	**0**	**0**	**0.00**	**0**	**0**	**0.00**
6	Aurangabad Rural	0	0	0.00	0	0	0.00	0	0	0.00
7	Jalna	0	0	0.00	0	0	0.00	0	0	0.00
8	Beed	1	0	0.04	0	0	0.00	0	0	0.00
9	Osmanabad	0	0	0.00	0	0	0.00	0	0	0.00
*	**Aurangabad Range**	**1**	**0**	**0.01**	**0**	**0**	**0.00**	**0**	**0**	**0.00**
10	Nanded	0	0	0.00	0	0	0.00	0	0	0.00
11	Latur	0	0	0.00	0	0	0.00	0	0	0.00
12	Parbhani	1	0	0.05	0	0	0.00	0	0	0.00
13	Hingoli	0	0	0.00	0	0	0.00	0	0	0.00
*	**Nanded Range**	**1**	**0**	**0.01**	**0**	**0**	**0.00**	**0**	**0**	**0.00**
14	Kolhapur	0	0	0.00	0	0	0.00	0	0	0.00
15	Pune Rural	2	2	0.04	2	2	0.04	0	0	0.00
16	Sangli	5	5	0.17	0	0	0.00	0	0	0.00
17	Satara	3	3	0.09	0	0	0.00	0	0	0.00
18	Solapur Rural	4	4	0.11	0	0	0.00	0	0	0.00
*	**Kolhapur Range**	**14**	**14**	**0.08**	**2**	**2**	**0.01**	**0**	**0**	**0.00**
19	Bhandara	0	0	0.00	0	0	0.00	0	0	0.00
20	Chandrapur	1	1	0.04	0	0	0.00	0	0	0.00
21	Nagpur Rural	0	0	0.00	0	0	0.00	0	0	0.00
22	Wardha	0	0	0.00	4	4	0.29	0	0	0.00
*	**Nagpur Range**	**1**	**1**	**0.01**	**4**	**4**	**0.06**	**0**	**0**	**0.00**
23	Gadchiroli	1	1	0.09	0	0	0.00	0	0	0.00
24	Gondia	0	0	0.00	0	0	0.00	0	0	0.00
*	**Gadchiroli Range**	**1**	**1**	**0.04**	**0**	**0**	**0.00**	**0**	**0**	**0.00**
25	Ahmednagar	0	0	0.00	0	0	0.00	0	0	0.00
26	Dhule	0	0	0.00	0	0	0.00	0	0	0.00
27	Jalgaon	0	0	0.00	0	0	0.00	0	0	0.00
28	Nasik Rural	0	0	0.00	0	0	0.00	0	0	0.00
29	Nandurbar	0	0	0.00	0	0	0.00	0	0	0.00
*	**Nasik Range**	**0**	**0**	**0.00**	**0**	**0**	**0.00**	**0**	**0**	**0.00**
30	Raigad	3	3	0.16	0	0	0.00	0	0	0.00
31	Ratnagiri	0	0	0.00	0	0	0.00	0	0	0.00
32	Sindhudurg	7	7	0.82	0	0	0.00	0	0	0.00
33	Thane Rural	0	0	0.00	0	0	0.00	0	0	0.00
34	Palghar	5	0	0.16	0	0	0.00	0	0	0.00
*	**Thane Range**	**15**	**10**	**0.15**	**0**	**0**	**0.00**	**0**	**0**	**0.00**
35	Mumbai Railway	1	1		0	0		0	0	
36	Pune Railway	0	0		0	0		0	0	
37	Nagpur Railway	6	6		0	0		0	0	
*	**Railway Range**	**7**	**7**		**0**	**0**		**0**	**0**	
38	Nagpur Commr.	0	0	0.00	0	0	0.00	0	0	0.00
39	Pune Commr.	0	0	0.00	0	0	0.00	0	0	0.00
40	Thane Commr.	0	0	0.00	0	0	0.00	0	0	0.00
41	Mumbai Commr.	28	25	0.22	9	7	0.07	0	0	0.00
42	Nasik Commr.	1	1	0.06	0	0	0.00	0	0	0.00
43	Aurangabad Commr.	0	0	0.00	0	0	0.00	0	0	0.00
44	Solapur Commr.	3	3	0.29	0	0	0.00	0	0	0.00
45	Navi Mumbai	5	5	0.23	2	2	0.09	0	0	0.00
46	Amravati Commr.	0	0	0.00	0	0	0.00	0	0	0.00
*	**Total Commrs.**	**37**	**34**	**0.11**	**11**	**9**	**0.03**	**0**	**0**	**0.00**
*	**Total of M.S**	**83**	**73**	**0.07**	**17**	**15**	**0.01**	**0**	**0**	**0.00**

तक्ता क्र. ६ (चालू)

TABLE NO.6 (Continued)

Sr. No.	Unit	Counterfeiting			Arson			Grievous Hurt		
		Counterfeiting & Bank Notes (Section 489-A To 489-E IPC)						Grievous Hurt Total		
		Making Or Using Documents Resembling Currency Notes / Bank Notes (Section 489- E IPC)								
		I	V	R	I	V	R	I	V	R
1	**2**	**159**	**160**	**161**	**162**	**163**	**164**	**165**	**166**	**167**
1	Akola	0	0	0.00	31	31	1.62	97	126	5.07
2	Amravati Rural	0	0	0.00	69	69	3.17	141	141	6.48
3	Buldhana	1	1	0.04	45	45	1.65	119	120	4.36
4	Yavatmal	0	0	0.00	58	58	1.96	162	162	5.48
5	Washim	0	0	0.00	29	29	2.26	77	79	6.01
*	**Amravati Range**	**1**	**1**	**0.01**	**232**	**232**	**2.10**	**596**	**628**	**5.39**
6	Aurangabad Rural	0	0	0.00	34	34	1.43	91	91	3.84
7	Jalna	0	0	0.00	28	28	1.33	292	292	13.85
8	Beed	0	0	0.00	29	30	1.04	127	136	4.58
9	Osmanabad	0	0	0.00	17	17	0.96	91	91	5.15
*	**Aurangabad Range**	**0**	**0**	**0.00**	**108**	**109**	**1.20**	**601**	**610**	**6.66**
10	Nanded	0	0	0.00	51	51	1.42	162	163	4.50
11	Latur	0	0	0.00	54	54	2.05	41	41	1.56
12	Parbhani	0	0	0.00	30	30	1.52	151	151	7.66
13	Hingoli	0	0	0.00	29	29	2.29	68	68	5.38
*	**Nanded Range**	**0**	**0**	**0.00**	**164**	**164**	**1.73**	**422**	**423**	**4.46**
14	Kolhapur	0	0	0.00	17	19	0.41	614	616	14.90
15	Pune Rural	0	0	0.00	54	55	1.21	294	294	6.61
16	Sangli	0	0	0.00	18	18	0.60	172	195	5.74
17	Satara	0	0	0.00	28	28	0.88	154	154	4.84
18	Solapur Rural	0	0	0.00	70	69	1.96	171	171	4.79
*	**Kolhapur Range**	**0**	**0**	**0.00**	**187**	**189**	**1.02**	**1405**	**1430**	**7.67**
19	Bhandara	0	0	0.00	31	31	2.44	51	56	4.01
20	Chandrapur	0	0	0.00	40	40	1.71	74	74	3.17
21	Nagpur Rural	0	0	0.00	34	34	1.51	131	131	5.82
22	Wardha	0	0	0.00	16	16	1.16	109	109	7.92
*	**Nagpur Range**	**0**	**0**	**0.00**	**121**	**121**	**1.67**	**365**	**370**	**5.05**
23	Gadchiroli	0	0	0.00	17	17	1.49	35	35	3.07
24	Gondia	0	0	0.00	9	9	0.64	50	50	3.56
*	**Gadchiroli Range**	**0**	**0**	**0.00**	**26**	**26**	**1.02**	**85**	**85**	**3.34**
25	Ahmednagar	0	0	0.00	58	57	1.21	216	216	4.50
26	Dhule	0	0	0.00	4	4	0.18	63	63	2.86
27	Jalgaon	0	0	0.00	23	23	0.51	177	190	3.92
28	Nasik Rural	0	0	0.00	26	0	0.55	456	463	9.58
29	Nandurbar	0	0	0.00	6	5	0.34	41	41	2.30
*	**Nasik Range**	**0**	**0**	**0.00**	**117**	**89**	**0.65**	**953**	**973**	**5.28**
30	Raigad	0	0	0.00	15	0	0.80	52	52	2.77
31	Ratnagiri	0	0	0.00	17	17	1.05	31	31	1.92
32	Sindhudurg	0	0	0.00	15	15	1.76	26	26	3.06
33	Thane Rural	0	0	0.00	15	15	0.63	94	94	3.92
34	Palghar	0	0	0.00	10	10	0.32	263	263	8.32
*	**Thane Range**	**0**	**0**	**0.00**	**72**	**57**	**0.73**	**466**	**466**	**4.71**
35	Mumbai Railway	0	0		0	0		10	10	
36	Pune Railway	0	0		0	0		5	5	
37	Nagpur Railway	0	0		0	0		28	28	
*	**Railway Range**	**0**	**0**		**0**	**0**		**43**	**43**	
38	Nagpur Commr.	0	0	0.00	34	34	1.26	233	233	8.62
39	Pune Commr.	0	0	0.00	57	49	0.99	649	651	11.31
40	Thane Commr.	0	0	0.00	52	52	1.02	281	438	5.52
41	Mumbai Commr.	0	0	0.00	20	20	0.16	1512	1531	11.97
42	Nasik Commr.	0	0	0.00	14	14	0.80	62	66	3.56
43	Aurangabad Commr.	0	0	0.00	67	67	4.18	76	76	4.74
44	Solapur Commr.	0	0	0.00	7	7	0.68	22	22	2.14
45	Navi Mumbai	0	0	0.00	11	11	0.51	109	122	5.10
46	Amravati Commr.	0	0	0.00	10	10	1.16	65	65	7.57
*	**Total Commrs.**	**0**	**0**	**0.00**	**272**	**264**	**0.81**	**3009**	**3204**	**8.97**
*	**Total of M.S**	**1**	**1**	**0.00**	**1299**	**1251**	**1.09**	**7945**	**8232**	**6.67**

तक्ता क्र. ६ (चालू)

TABLE NO.6 (Continued)

Sr. No.	Unit	Grievous Hurt								
		Grievous Hurt (Section 325 & 326 IPC)			Acid Attack (Section 326A IPC)			Attempt To Acid Attack (Section 326B IPC)		
		I	V	R	I	V	R	I	V	R
1	**2**	**168**	**169**	**170**	**171**	**172**	**173**	**174**	**175**	**176**
1	Akola	97	126	5.07	0	0	0.00	0	0	0.00
2	Amravati Rural	141	141	6.48	0	0	0.00	0	0	0.00
3	Buldhana	119	120	4.36	0	0	0.00	0	0	0.00
4	Yavatmal	162	162	5.48	0	0	0.00	0	0	0.00
5	Washim	76	78	5.93	1	1	0.08	0	0	0.00
*	**Amravati Range**	**595**	**627**	**5.38**	**1**	**1**	**0.01**	**0**	**0**	**0.00**
6	Aurangabad Rural	91	91	3.84	0	0	0.00	0	0	0.00
7	Jalna	292	292	13.85	0	0	0.00	0	0	0.00
8	Beed	127	136	4.58	0	0	0.00	0	0	0.00
9	Osmanabad	91	91	5.15	0	0	0.00	0	0	0.00
*	**Aurangabad Range**	**601**	**610**	**6.66**	**0**	**0**	**0.00**	**0**	**0**	**0.00**
10	Nanded	161	161	4.47	1	2	0.03	0	0	0.00
11	Latur	41	41	1.56	0	0	0.00	0	0	0.00
12	Parbhani	151	151	7.66	0	0	0.00	0	0	0.00
13	Hingoli	68	68	5.38	0	0	0.00	0	0	0.00
*	**Nanded Range**	**421**	**421**	**4.45**	**1**	**2**	**0.01**	**0**	**0**	**0.00**
14	Kolhapur	614	616	14.90	0	0	0.00	0	0	0.00
15	Pune Rural	294	294	6.61	0	0	0.00	0	0	0.00
16	Sangli	172	195	5.74	0	0	0.00	0	0	0.00
17	Satara	154	154	4.84	0	0	0.00	0	0	0.00
18	Solapur Rural	171	171	4.79	0	0	0.00	0	0	0.00
*	**Kolhapur Range**	**1405**	**1430**	**7.67**	**0**	**0**	**0.00**	**0**	**0**	**0.00**
19	Bhandara	51	56	4.01	0	0	0.00	0	0	0.00
20	Chandrapur	74	74	3.17	0	0	0.00	0	0	0.00
21	Nagpur Rural	131	131	5.82	0	0	0.00	0	0	0.00
22	Wardha	109	109	7.92	0	0	0.00	0	0	0.00
*	**Nagpur Range**	**365**	**370**	**5.05**	**0**	**0**	**0.00**	**0**	**0**	**0.00**
23	Gadchiroli	35	35	3.07	0	0	0.00	0	0	0.00
24	Gondia	50	50	3.56	0	0	0.00	0	0	0.00
*	**Gadchiroli Range**	**85**	**85**	**3.34**	**0**	**0**	**0.00**	**0**	**0**	**0.00**
25	Ahmednagar	214	214	4.46	2	2	0.04	0	0	0.00
26	Dhule	63	63	2.86	0	0	0.00	0	0	0.00
27	Jalgaon	176	189	3.90	1	1	0.02	0	0	0.00
28	Nasik Rural	456	463	9.58	0	0	0.00	0	0	0.00
29	Nandurbar	41	41	2.30	0	0	0.00	0	0	0.00
*	**Nasik Range**	**950**	**970**	**5.26**	**3**	**3**	**0.02**	**0**	**0**	**0.00**
30	Raigad	52	52	2.77	0	0	0.00	0	0	0.00
31	Ratnagiri	31	31	1.92	0	0	0.00	0	0	0.00
32	Sindhudurg	26	26	3.06	0	0	0.00	0	0	0.00
33	Thane Rural	94	94	3.92	0	0	0.00	0	0	0.00
34	Palghar	263	263	8.32	0	0	0.00	0	0	0.00
*	**Thane Range**	**466**	**466**	**4.71**	**0**	**0**	**0.00**	**0**	**0**	**0.00**
35	Mumbai Railway	10	10		0	0		0	0	
36	Pune Railway	5	5		0	0		0	0	
37	Nagpur Railway	28	28		0	0		0	0	
*	**Railway Range**	**43**	**43**		**0**	**0**		**0**	**0**	
38	Nagpur Commr.	233	233	8.62	0	0	0.00	0	0	0.00
39	Pune Commr.	649	651	11.31	0	0	0.00	0	0	0.00
40	Thane Commr.	281	438	5.52	0	0	0.00	0	0	0.00
41	Mumbai Commr.	1511	1530	11.96	1	1	0.01	0	0	0.00
42	Nasik Commr.	62	66	3.56	0	0	0.00	0	0	0.00
43	Aurangabad Commr.	76	76	4.74	0	0	0.00	0	0	0.00
44	Solapur Commr.	22	22	2.14	0	0	0.00	0	0	0.00
45	Navi Mumbai	109	122	5.10	0	0	0.00	0	0	0.00
46	Amravati Commr.	64	64	7.45	1	1	0.12	0	0	0.00
*	**Total Commrs.**	**3007**	**3202**	**8.97**	**2**	**2**	**0.01**	**0**	**0**	**0.00**
*	**Total of M.S**	**7938**	**8224**	**6.66**	**7**	**8**	**0.01**	**0**	**0**	**0.00**

तक्ता क्र. ६ (चालू)

TABLE NO.6 (Continued)

Sr. No.	Unit	Dowry Deaths			Assault On Women With Intent To Outrage Her Modesty					
					Assaut			Sexual Harrassment		
		I	V	R	I	V	R	I	V	R
1	**2**	**177**	**178**	**179**	**180**	**181**	**182**	**183**	**184**	**185**
1	Akola	4	4	0.21	222	222	11.60	111	111	5.80
2	Amravati Rural	3	3	0.14	418	418	19.21	163	163	7.49
3	Buldhana	14	14	0.51	266	268	9.74	189	189	6.92
4	Yavatmal	15	15	0.51	458	458	15.49	220	220	7.44
5	Washim	12	12	0.94	206	207	16.07	206	207	16.07
*	**Amravati Range**	**48**	**48**	**0.43**	**1570**	**1573**	**14.20**	**889**	**890**	**8.04**
6	Aurangabad Rural	18	18	0.76	242	242	10.20	96	96	4.05
7	Jalna	11	11	0.52	191	191	9.06	143	143	6.78
8	Beed	5	5	0.18	263	263	9.48	145	145	5.22
9	Osmanabad	6	6	0.34	106	106	6.00	58	58	3.29
*	**Aurangabad Range**	**40**	**40**	**0.44**	**802**	**802**	**8.89**	**442**	**442**	**4.90**
10	Nanded	12	12	0.33	165	165	4.59	165	165	4.59
11	Latur	8	8	0.30	155	155	5.89	0	0	0.00
12	Parbhani	11	11	0.56	153	153	7.76	94	94	4.77
13	Hingoli	1	1	0.08	91	91	7.20	46	46	3.64
*	**Nanded Range**	**32**	**32**	**0.34**	**564**	**564**	**5.96**	**305**	**305**	**3.22**
14	Kolhapur	7	7	0.17	219	219	5.31	79	79	1.92
15	Pune Rural	5	5	0.11	508	508	11.42	87	87	1.96
16	Sangli	16	16	0.53	171	184	5.70	31	31	1.03
17	Satara	2	2	0.06	274	274	8.61	98	98	3.08
18	Solapur Rural	8	8	0.22	251	251	7.02	113	113	3.16
*	**Kolhapur Range**	**38**	**38**	**0.21**	**1423**	**1436**	**7.77**	**408**	**408**	**2.23**
19	Bhandara	0	0	0.00	92	92	7.24	51	51	4.01
20	Chandrapur	10	10	0.43	269	269	11.52	0	0	0.00
21	Nagpur Rural	1	1	0.04	167	167	7.42	84	84	3.73
22	Wardha	0	0	0.00	243	243	17.65	96	96	6.97
*	**Nagpur Range**	**11**	**11**	**0.15**	**771**	**771**	**10.66**	**231**	**231**	**3.19**
23	Gadchiroli	1	1	0.09	40	40	3.50	13	13	1.14
24	Gondia	0	0	0.00	118	118	8.39	68	68	4.84
*	**Gadchiroli Range**	**1**	**1**	**0.04**	**158**	**158**	**6.20**	**81**	**81**	**3.18**
25	Ahmednagar	14	14	0.29	376	376	7.83	115	115	2.39
26	Dhule	6	6	0.27	69	69	3.13	0	0	0.00
27	Jalgaon	1	1	0.02	288	289	6.37	199	200	4.40
28	Nasik Rural	14	14	0.29	252	257	5.29	214	215	4.49
29	Nandurbar	0	0	0.00	41	41	2.30	26	26	1.46
*	**Nasik Range**	**35**	**35**	**0.19**	**1026**	**1032**	**5.68**	**554**	**556**	**3.07**
30	Raigad	1	1	0.05	108	108	5.75	39	39	2.08
31	Ratnagiri	1	1	0.06	60	64	3.72	21	21	1.30
32	Sindhudurg	0	0	0.00	38	38	4.47	13	13	1.53
33	Thane Rural	2	2	0.08	176	176	7.34	26	26	1.08
34	Palghar	2	2	0.06	226	226	7.15	34	34	1.08
*	**Thane Range**	**6**	**6**	**0.06**	**608**	**612**	**6.14**	**133**	**133**	**1.34**
35	Mumbai Railway	0	0		89	89		23	23	
36	Pune Railway	0	0		13	13		3	3	
37	Nagpur Railway	0	0		20	20		0	0	
*	**Railway Range**	**0**	**0**		**122**	**122**		**26**	**26**	
38	Nagpur Commr.	9	9	0.33	392	392	14.50	158	158	5.84
39	Pune Commr.	17	17	0.30	705	716	12.28	295	297	5.14
40	Thane Commr.	7	7	0.14	564	564	11.09	209	209	4.11
41	Mumbai Commr.	9	9	0.07	2008	2025	15.90	720	722	5.70
42	Nasik Commr.	1	1	0.06	106	106	6.09	31	31	1.78
43	Aurangabad Commr.	3	3	0.19	383	383	23.91	125	125	7.80
44	Solapur Commr.	1	1	0.10	81	81	7.88	24	24	2.34
45	Navi Mumbai	9	9	0.42	202	204	9.45	54	54	2.53
46	Amravati Commr.	1	1	0.12	228	228	26.54	66	66	7.68
*	**Total Commrs.**	**57**	**57**	**0.17**	**4669**	**4699**	**13.93**	**1682**	**1686**	**5.02**
*	**Total of M.S**	**268**	**268**	**0.22**	**11713**	**11769**	**9.83**	**4751**	**4758**	**3.99**

तक्ता क्र. ६ (चालू)

TABLE NO.6 (Continued)

Sr. No.	Unit	Assault On Women With Intent To Outrage Her Modesty								
		Use of Criminal Force with intent to Disrobe			Voyeurism(Section 354C IPC)			Stalking (Section 354D IPC)		
		I	V	R	I	V	R	I	V	R
1	2	186	187	188	189	190	191	192	193	194
1	Akola	17	17	0.89	3	3	0.16	16	16	0.84
2	Amravati Rural	25	25	1.15	6	6	0.28	76	76	3.49
3	Buldhana	24	24	0.88	6	6	0.22	20	20	0.73
4	Yavatmal	37	37	1.25	2	2	0.07	32	32	1.08
5	Washim	0	0	0.00	0	0	0.00	0	0	0.00
*	**Amravati Range**	**103**	**103**	**0.93**	**17**	**17**	**0.15**	**144**	**144**	**1.30**
6	Aurangabad Rural	22	22	0.93	2	2	0.08	27	27	1.14
7	Jalna	0	0	0.00	0	0	0.00	0	0	0.00
8	Beed	13	13	0.47	0	0	0.00	19	19	0.68
9	Osmanabad	6	6	0.34	2	2	0.11	16	16	0.91
*	**Aurangabad Range**	**41**	**41**	**0.45**	**4**	**4**	**0.04**	**62**	**62**	**0.69**
10	Nanded	0	0	0.00	0	0	0.00	0	0	0.00
11	Latur	0	0	0.00	0	0	0.00	0	0	0.00
12	Parbhani	10	10	0.51	0	0	0.00	15	15	0.76
13	Hingoli	2	2	0.16	0	0	0.00	5	5	0.40
*	**Nanded Range**	**12**	**12**	**0.13**	**0**	**0**	**0.00**	**20**	**20**	**0.21**
14	Kolhapur	8	8	0.19	2	2	0.05	21	21	0.51
15	Pune Rural	15	15	0.34	6	6	0.13	44	44	0.99
16	Sangli	0	0	0.00	1	1	0.03	18	18	0.60
17	Satara	15	15	0.47	2	2	0.06	56	56	1.76
18	Solapur Rural	21	21	0.59	3	3	0.08	46	46	1.29
*	**Kolhapur Range**	**59**	**59**	**0.32**	**14**	**14**	**0.08**	**185**	**185**	**1.01**
19	Bhandara	3	3	0.24	2	2	0.16	19	19	1.49
20	Chandrapur	0	0	0.00	0	0	0.00	0	0	0.00
21	Nagpur Rural	8	8	0.36	1	1	0.04	11	11	0.49
22	Wardha	13	13	0.94	1	1	0.07	25	25	1.82
*	**Nagpur Range**	**24**	**24**	**0.33**	**4**	**4**	**0.06**	**55**	**55**	**0.76**
23	Gadchiroli	2	2	0.18	0	0	0.00	2	2	0.18
24	Gondia	0	0	0.00	0	0	0.00	0	0	0.00
*	**Gadchiroli Range**	**2**	**2**	**0.08**	**0**	**0**	**0.00**	**2**	**2**	**0.08**
25	Ahmednagar	8	8	0.17	8	8	0.17	13	13	0.27
26	Dhule	0	0	0.00	0	0	0.00	0	0	0.00
27	Jalgaon	0	0	0.00	0	0	0.00	0	0	0.00
28	Nasik Rural	1	1	0.02	1	1	0.02	2	2	0.04
29	Nandurbar	0	0	0.00	0	0	0.00	2	2	0.11
*	**Nasik Range**	**9**	**9**	**0.05**	**9**	**9**	**0.05**	**17**	**17**	**0.09**
30	Raigad	3	3	0.16	2	2	0.11	30	30	1.60
31	Ratnagiri	2	2	0.12	2	6	0.12	13	13	0.80
32	Sindhudurg	0	0	0.00	0	0	0.00	9	9	1.06
33	Thane Rural	7	7	0.29	2	2	0.08	27	27	1.13
34	Palghar	8	8	0.25	1	1	0.03	19	19	0.60
*	**Thane Range**	**20**	**20**	**0.20**	**7**	**11**	**0.07**	**98**	**98**	**0.99**
35	Mumbai Railway	2	2		0	0		9	9	
36	Pune Railway	0	0		0	0		0	0	
37	Nagpur Railway	0	0		0	0		0	0	
*	**Railway Range**	**2**	**2**		**0**	**0**		**9**	**9**	
38	Nagpur Commr.	15	15	0.55	6	6	0.22	86	86	3.18
39	Pune Commr.	20	22	0.35	7	7	0.12	154	154	2.68
40	Thane Commr.	9	9	0.18	5	5	0.10	70	70	1.38
41	Mumbai Commr.	80	80	0.63	22	22	0.17	319	321	2.53
42	Nasik Commr.	1	1	0.06	0	0	0.00	10	10	0.57
43	Aurangabad Commr.	22	22	1.37	18	18	1.12	91	91	5.68
44	Solapur Commr.	1	1	0.10	1	1	0.10	9	9	0.88
45	Navi Mumbai	12	13	0.56	3	3	0.14	31	31	1.45
46	Amravati Commr.	2	2	0.23	3	3	0.35	37	37	4.31
*	**Total Commrs.**	**162**	**165**	**0.48**	**65**	**65**	**0.19**	**807**	**809**	**2.41**
*	**Total of M.S**	**434**	**437**	**0.36**	**120**	**124**	**0.10**	**1399**	**1401**	**1.17**

तक्ता क्र. ६ (चालू)

TABLE NO.6 (Continued)

Sr. No.	Unit	Assault On Women With Intent To Outrage Her Modesty								
		Others			Insult To The Modesty Of Women (Total)			At Office Premises		
		I	V	R	I	V	R	I	V	R
1	2	195	196	197	198	199	200	201	202	203
1	Akola	75	75	3.92	6	6	0.31	0	0	0.00
2	Amravati Rural	148	148	6.80	9	9	0.41	0	0	0.00
3	Buldhana	27	29	0.99	24	24	0.88	3	3	0.11
4	Yavatmal	167	167	5.65	140	140	4.74	0	0	0.00
5	Washim	0	0	0.00	4	4	0.31	0	0	0.00
*	**Amravati Range**	**417**	**419**	**3.77**	**183**	**183**	**1.65**	**3**	**3**	**0.03**
6	Aurangabad Rural	95	95	4.01	5	5	0.21	0	0	0.00
7	Jalna	48	48	2.28	12	12	0.57	4	4	0.19
8	Beed	86	86	3.10	3	3	0.11	0	0	0.00
9	Osmanabad	24	24	1.36	1	1	0.06	0	0	0.00
*	**Aurangabad Range**	**253**	**253**	**2.80**	**21**	**21**	**0.23**	**4**	**4**	**0.04**
10	Nanded	0	0	0.00	4	4	0.11	0	0	0.00
11	Latur	155	155	5.89	1	1	0.04	0	0	0.00
12	Parbhani	34	34	1.72	1	1	0.05	0	0	0.00
13	Hingoli	38	38	3.01	3	3	0.24	0	0	0.00
*	**Nanded Range**	**227**	**227**	**2.40**	**9**	**9**	**0.10**	**0**	**0**	**0.00**
14	Kolhapur	109	109	2.64	2	2	0.05	0	0	0.00
15	Pune Rural	356	356	8.00	28	28	0.63	0	0	0.00
16	Sangli	121	134	4.04	4	4	0.13	0	0	0.00
17	Satara	103	103	3.24	18	18	0.57	0	0	0.00
18	Solapur Rural	68	68	1.90	2	2	0.06	0	0	0.00
*	**Kolhapur Range**	**757**	**770**	**4.13**	**54**	**54**	**0.29**	**0**	**0**	**0.00**
19	Bhandara	17	17	1.34	8	8	0.63	2	2	0.16
20	Chandrapur	269	269	11.52	11	11	0.47	0	0	0.00
21	Nagpur Rural	63	63	2.80	16	16	0.71	0	0	0.00
22	Wardha	108	108	7.85	4	4	0.29	0	0	0.00
*	**Nagpur Range**	**457**	**457**	**6.32**	**39**	**39**	**0.54**	**2**	**2**	**0.03**
23	Gadchiroli	23	23	2.01	6	6	0.53	0	0	0.00
24	Gondia	50	50	3.56	4	4	0.28	0	0	0.00
*	**Gadchiroli Range**	**73**	**73**	**2.87**	**10**	**10**	**0.39**	**0**	**0**	**0.00**
25	Ahmednagar	232	232	4.83	7	7	0.15	0	0	0.00
26	Dhule	69	69	3.13	7	7	0.32	0	0	0.00
27	Jalgaon	89	89	1.97	21	21	0.46	0	0	0.00
28	Nasik Rural	34	38	0.71	2	2	0.04	0	0	0.00
29	Nandurbar	13	13	0.73	4	4	0.22	0	0	0.00
*	**Nasik Range**	**437**	**441**	**2.42**	**41**	**41**	**0.23**	**0**	**0**	**0.00**
30	Raigad	34	34	1.81	12	12	0.64	0	0	0.00
31	Ratnagiri	22	22	1.36	16	16	0.99	0	0	0.00
32	Sindhudurg	16	16	1.88	2	2	0.24	0	0	0.00
33	Thane Rural	114	114	4.76	121	121	5.05	0	0	0.00
34	Palghar	164	164	5.19	13	13	0.41	0	0	0.00
*	**Thane Range**	**350**	**350**	**3.54**	**164**	**164**	**1.66**	**0**	**0**	**0.00**
35	Mumbai Railway	55	55		7	7		0	0	
36	Pune Railway	10	10		0	0		0	0	
37	Nagpur Railway	20	20		1	1		0	0	
*	**Railway Range**	**85**	**85**		**8**	**8**		**0**	**0**	
38	Nagpur Commr.	127	127	4.70	24	24	0.89	0	0	0.00
39	Pune Commr.	229	236	3.99	66	66	1.15	0	0	0.00
40	Thane Commr.	271	271	5.33	41	41	0.81	4	4	0.08
41	Mumbai Commr.	867	880	6.86	412	414	3.26	14	14	0.11
42	Nasik Commr.	64	64	3.68	7	7	0.40	0	0	0.00
43	Aurangabad Commr.	127	127	7.93	4	4	0.25	0	0	0.00
44	Solapur Commr.	46	46	4.48	4	4	0.39	0	0	0.00
45	Navi Mumbai	102	103	4.77	25	25	1.17	0	0	0.00
46	Amravati Commr.	120	120	13.97	7	7	0.81	0	0	0.00
*	**Total Commrs.**	**1953**	**1974**	**5.82**	**590**	**592**	**1.76**	**18**	**18**	**0.05**
*	**Total of M.S**	**5009**	**5049**	**4.20**	**1119**	**1121**	**0.94**	**27**	**27**	**0.02**

तक्ता क्र. ६ (चालू)

TABLE NO.6 (Continued)

Sr. No.	Unit	Assault On Women With Intent To Outrage Her Modesty								
		Other Places Related To Work			In Public Transport System			Places Other Than (Previous Columns)		
		I	V	R	I	V	R	I	V	R
1	2	204	205	206	207	208	209	210	211	212
1	Akola	0	0	0.00	0	0	0.00	6	6	0.31
2	Amravati Rural	0	0	0.00	0	0	0.00	9	9	0.41
3	Buldhana	5	5	0.18	14	14	0.51	2	2	0.07
4	Yavatmal	59	59	2.00	0	0	0.00	81	81	2.74
5	Washim	0	0	0.00	0	0	0.00	4	4	0.31
*	**Amravati Range**	**64**	**64**	**0.58**	**14**	**14**	**0.13**	**102**	**102**	**0.92**
6	Aurangabad Rural	0	0	0.00	0	0	0.00	5	5	0.21
7	Jalna	5	5	0.24	0	0	0.00	3	3	0.14
8	Beed	0	0	0.00	0	0	0.00	3	3	0.11
9	Osmanabad	0	0	0.00	0	0	0.00	1	1	0.06
*	**Aurangabad Range**	**5**	**5**	**0.06**	**0**	**0**	**0.00**	**12**	**12**	**0.13**
10	Nanded	0	0	0.00	0	0	0.00	4	4	0.11
11	Latur	0	0	0.00	0	0	0.00	1	1	0.04
12	Parbhani	0	0	0.00	0	0	0.00	1	1	0.05
13	Hingoli	0	0	0.00	0	0	0.00	3	3	0.24
*	**Nanded Range**	**0**	**0**	**0.00**	**0**	**0**	**0.00**	**9**	**9**	**0.10**
14	Kolhapur	0	0	0.00	0	0	0.00	2	2	0.05
15	Pune Rural	0	0	0.00	0	0	0.00	28	28	0.63
16	Sangli	0	0	0.00	0	0	0.00	4	4	0.13
17	Satara	0	0	0.00	0	0	0.00	18	18	0.57
18	Solapur Rural	0	0	0.00	0	0	0.00	2	2	0.06
*	**Kolhapur Range**	**0**	**0**	**0.00**	**0**	**0**	**0.00**	**54**	**54**	**0.29**
19	Bhandara	0	0	0.00	0	0	0.00	6	6	0.47
20	Chandrapur	0	0	0.00	0	0	0.00	11	11	0.47
21	Nagpur Rural	0	0	0.00	0	0	0.00	16	16	0.71
22	Wardha	0	0	0.00	0	0	0.00	4	4	0.29
*	**Nagpur Range**	**0**	**0**	**0.00**	**0**	**0**	**0.00**	**37**	**37**	**0.51**
23	Gadchiroli	0	0	0.00	0	0	0.00	6	6	0.53
24	Gondia	0	0	0.00	0	0	0.00	4	4	0.28
*	**Gadchiroli Range**	**0**	**0**	**0.00**	**0**	**0**	**0.00**	**10**	**10**	**0.39**
25	Ahmednagar	0	0	0.00	0	0	0.00	7	7	0.15
26	Dhule	0	0	0.00	0	0	0.00	7	7	0.32
27	Jalgaon	0	0	0.00	0	0	0.00	21	21	0.46
28	Nasik Rural	1	1	0.02	0	0	0.00	1	1	0.02
29	Nandurbar	0	0	0.00	0	0	0.00	4	4	0.22
*	**Nasik Range**	**1**	**1**	**0.01**	**0**	**0**	**0.00**	**40**	**40**	**0.22**
30	Raigad	0	0	0.00	0	0	0.00	12	12	0.64
31	Ratnagiri	0	0	0.00	0	0	0.00	16	16	0.99
32	Sindhudurg	0	0	0.00	0	0	0.00	2	2	0.24
33	Thane Rural	0	0	0.00	0	0	0.00	121	121	5.05
34	Palghar	1	1	0.03	0	0	0.00	12	12	0.38
*	**Thane Range**	**1**	**1**	**0.01**	**0**	**0**	**0.00**	**163**	**163**	**1.65**
35	Mumbai Railway	0	0		7	7		0	0	
36	Pune Railway	0	0		0	0		0	0	
37	Nagpur Railway	1	1		0	0		0	0	
*	**Railway Range**	**1**	**1**		**7**	**7**		**0**	**0**	
38	Nagpur Commr.	0	0	0.00	0	0	0.00	24	24	0.89
39	Pune Commr.	18	18	0.31	0	0	0.00	48	48	0.84
40	Thane Commr.	5	5	0.10	0	0	0.00	32	32	0.63
41	Mumbai Commr.	20	20	0.16	6	6	0.05	372	374	2.95
42	Nasik Commr.	0	0	0.00	1	1	0.06	6	6	0.34
43	Aurangabad Commr.	0	0	0.00	0	0	0.00	4	4	0.25
44	Solapur Commr.	0	0	0.00	0	0	0.00	4	4	0.39
45	Navi Mumbai	0	0	0.00	0	0	0.00	25	25	1.17
46	Amravati Commr.	0	0	0.00	0	0	0.00	7	7	0.81
*	**Total Commrs.**	**43**	**43**	**0.13**	**7**	**7**	**0.02**	**522**	**524**	**1.56**
*	**Total of M.S**	**115**	**115**	**0.10**	**28**	**28**	**0.02**	**949**	**951**	**0.80**

तक्ता क्र. ६ (चालू)

TABLE NO.6 (Continued)

Sr. No.	Unit	Cruelty By Husband Or His Relatives			Importation Of Girls From Foreign Country			Causing Death By Negligence		
								Causing Death By Negligence (Total)		
		I	V	R	I	V	R	I	V	R
1	2	213	214	215	216	217	218	219	220	221
1	Akola	144	144	7.53	0	0	0.00	133	145	6.95
2	Amravati Rural	244	244	11.21	0	0	0.00	256	281	11.76
3	Buldhana	140	140	5.12	0	0	0.00	259	289	9.48
4	Yavatmal	262	262	8.86	0	0	0.00	254	254	8.59
5	Washim	127	127	9.91	0	0	0.00	113	127	8.82
*	**Amravati Range**	**917**	**917**	**8.29**	**0**	**0**	**0.00**	**1015**	**1096**	**9.18**
6	Aurangabad Rural	185	185	7.80	0	0	0.00	261	261	11.00
7	Jalna	263	263	12.48	0	0	0.00	169	169	8.02
8	Beed	362	362	13.04	0	0	0.00	265	293	9.55
9	Osmanabad	109	109	6.17	0	0	0.00	288	331	16.31
*	**Aurangabad Range**	**919**	**919**	**10.19**	**0**	**0**	**0.00**	**983**	**1054**	**10.90**
10	Nanded	213	213	5.92	0	0	0.00	237	261	6.59
11	Latur	205	205	7.79	0	0	0.00	249	249	9.47
12	Parbhani	205	205	10.40	0	0	0.00	119	134	6.03
13	Hingoli	65	65	5.14	0	0	0.00	111	111	8.78
*	**Nanded Range**	**688**	**688**	**7.27**	**0**	**0**	**0.00**	**716**	**755**	**7.56**
14	Kolhapur	128	128	3.11	0	0	0.00	377	387	9.15
15	Pune Rural	211	211	4.74	0	0	0.00	1033	1044	23.22
16	Sangli	103	106	3.44	0	0	0.00	352	403	11.74
17	Satara	155	155	4.87	0	0	0.00	465	465	14.61
18	Solapur Rural	113	113	3.16	0	0	0.00	528	535	14.78
*	**Kolhapur Range**	**710**	**713**	**3.87**	**0**	**0**	**0.00**	**2755**	**2834**	**15.03**
19	Bhandara	41	41	3.23	0	0	0.00	161	224	12.67
20	Chandrapur	201	201	8.61	0	0	0.00	241	264	10.32
21	Nagpur Rural	61	61	2.71	0	0	0.00	416	416	18.48
22	Wardha	67	67	4.87	0	0	0.00	173	173	12.57
*	**Nagpur Range**	**370**	**370**	**5.12**	**0**	**0**	**0.00**	**991**	**1077**	**13.70**
23	Gadchiroli	13	13	1.14	0	0	0.00	111	111	9.72
24	Gondia	38	38	2.70	0	0	0.00	130	130	9.25
*	**Gadchiroli Range**	**51**	**51**	**2.00**	**0**	**0**	**0.00**	**241**	**241**	**9.46**
25	Ahmednagar	243	243	5.06	0	0	0.00	784	835	16.33
26	Dhule	200	200	9.08	0	0	0.00	316	345	14.35
27	Jalgaon	276	276	6.11	0	0	0.00	420	568	9.30
28	Nasik Rural	440	440	9.24	0	0	0.00	729	754	15.31
29	Nandurbar	38	38	2.14	0	0	0.00	143	175	8.04
*	**Nasik Range**	**1197**	**1197**	**6.63**	**0**	**0**	**0.00**	**2392**	**2677**	**13.24**
30	Raigad	50	50	2.66	0	0	0.00	325	325	17.32
31	Ratnagiri	18	18	1.11	0	0	0.00	160	170	9.91
32	Sindhudurg	10	10	1.18	0	0	0.00	81	81	9.53
33	Thane Rural	137	137	5.72	0	0	0.00	272	272	11.35
34	Palghar	51	51	1.61	0	0	0.00	498	510	15.75
*	**Thane Range**	**266**	**266**	**2.69**	**0**	**0**	**0.00**	**1336**	**1358**	**13.50**
35	Mumbai Railway	0	0		0	0		3	3	
36	Pune Railway	0	0		0	0		3	3	
37	Nagpur Railway	0	0		0	0		1	1	
*	**Railway Range**	**0**	**0**		**0**	**0**		**7**	**7**	
38	Nagpur Commr.	309	309	11.43	0	0	0.00	308	308	11.39
39	Pune Commr.	379	380	6.60	0	0	0.00	504	529	8.78
40	Thane Commr.	357	357	7.02	0	0	0.00	319	326	6.27
41	Mumbai Commr.	658	659	5.21	0	0	0.00	587	613	4.65
42	Nasik Commr.	203	203	11.66	0	0	0.00	235	250	13.50
43	Aurangabad Commr.	314	314	19.60	0	0	0.00	159	170	9.93
44	Solapur Commr.	61	61	5.94	0	0	0.00	77	77	7.49
45	Navi Mumbai	89	89	4.16	0	0	0.00	367	383	17.17
46	Amravati Commr.	152	152	17.69	0	0	0.00	66	69	7.68
*	**Total Commrs.**	**2522**	**2524**	**7.52**	**0**	**0**	**0.00**	**2622**	**2725**	**7.82**
*	**Total of M.S**	**7640**	**7645**	**6.41**	**0**	**0**	**0.00**	**13058**	**13824**	**10.96**

तक्ता क्र. ६ (चालू)

TABLE NO.6 (Continued)

Sr. No.	Unit	Causing Death By Negligence						Offences Against State		
		Deaths Due To Rash/Negligent Driving			Deaths Due To Other Causes			Offences Against State (Total)		
		I	V	R	I	V	R	I	V	R
1	2	222	223	224	225	226	227	228	229	230
1	Akola	133	145	6.95	0	0	0.00	0	0	0.00
2	Amravati Rural	245	270	11.26	11	11	0.51	0	0	0.00
3	Buldhana	248	278	9.08	11	11	0.40	0	0	0.00
4	Yavatmal	246	246	8.32	8	8	0.27	0	0	0.00
5	Washim	113	127	8.82	0	0	0.00	0	0	0.00
*	**Amravati Range**	**985**	**1066**	**8.91**	**30**	**30**	**0.27**	**0**	**0**	**0.00**
6	Aurangabad Rural	259	259	10.92	2	2	0.08	0	0	0.00
7	Jalna	166	166	7.87	3	3	0.14	0	0	0.00
8	Beed	258	286	9.30	7	7	0.25	0	0	0.00
9	Osmanabad	284	327	16.09	4	4	0.23	0	0	0.00
*	**Aurangabad Range**	**967**	**1038**	**10.72**	**16**	**16**	**0.18**	**0**	**0**	**0.00**
10	Nanded	235	258	6.53	2	3	0.06	0	0	0.00
11	Latur	249	249	9.47	0	0	0.00	0	0	0.00
12	Parbhani	114	129	5.78	5	5	0.25	0	0	0.00
13	Hingoli	111	111	8.78	0	0	0.00	0	0	0.00
*	**Nanded Range**	**709**	**747**	**7.49**	**7**	**8**	**0.07**	**0**	**0**	**0.00**
14	Kolhapur	335	335	8.13	42	52	1.02	0	0	0.00
15	Pune Rural	1031	1041	23.18	2	3	0.04	0	0	0.00
16	Sangli	343	394	11.44	9	9	0.30	0	0	0.00
17	Satara	453	453	14.23	12	12	0.38	0	0	0.00
18	Solapur Rural	521	528	14.58	7	7	0.20	0	0	0.00
*	**Kolhapur Range**	**2683**	**2751**	**14.64**	**72**	**83**	**0.39**	**0**	**0**	**0.00**
19	Bhandara	155	205	12.20	6	19	0.47	0	0	0.00
20	Chandrapur	236	257	10.11	5	7	0.21	0	0	0.00
21	Nagpur Rural	401	401	17.82	15	15	0.67	0	0	0.00
22	Wardha	173	173	12.57	0	0	0.00	0	0	0.00
*	**Nagpur Range**	**965**	**1036**	**13.34**	**26**	**41**	**0.36**	**0**	**0**	**0.00**
23	Gadchiroli	109	109	9.55	2	2	0.18	1	1	0.09
24	Gondia	122	122	8.68	8	8	0.57	0	0	0.00
*	**Gadchiroli Range**	**231**	**231**	**9.07**	**10**	**10**	**0.39**	**1**	**1**	**0.04**
25	Ahmednagar	784	835	16.33	0	0	0.00	0	0	0.00
26	Dhule	314	343	14.26	2	2	0.09	0	0	0.00
27	Jalgaon	406	554	8.99	14	14	0.31	0	0	0.00
28	Nasik Rural	729	754	15.31	0	0	0.00	0	0	0.00
29	Nandurbar	143	175	8.04	0	0	0.00	0	0	0.00
*	**Nasik Range**	**2376**	**2661**	**13.15**	**16**	**16**	**0.09**	**0**	**0**	**0.00**
30	Raigad	321	321	17.10	4	4	0.21	0	0	0.00
31	Ratnagiri	160	170	9.91	0	0	0.00	0	0	0.00
32	Sindhudurg	45	45	5.29	36	36	4.24	0	0	0.00
33	Thane Rural	266	266	11.10	6	6	0.25	0	0	0.00
34	Palghar	480	492	15.19	18	18	0.57	0	0	0.00
*	**Thane Range**	**1272**	**1294**	**12.85**	**64**	**64**	**0.65**	**0**	**0**	**0.00**
35	Mumbai Railway	0	0		3	3		0	0	
36	Pune Railway	3	3		0	0		0	0	
37	Nagpur Railway	0	0		1	1		0	0	
*	**Railway Range**	**3**	**3**		**4**	**4**		**0**	**0**	
38	Nagpur Commr.	308	308	11.39	0	0	0.00	0	0	0.00
39	Pune Commr.	465	490	8.10	39	39	0.68	0	0	0.00
40	Thane Commr.	260	264	5.11	59	62	1.16	0	0	0.00
41	Mumbai Commr.	538	561	4.26	49	52	0.39	0	0	0.00
42	Nasik Commr.	228	243	13.10	7	7	0.40	0	0	0.00
43	Aurangabad Commr.	158	169	9.86	1	1	0.06	0	0	0.00
44	Solapur Commr.	73	73	7.10	4	4	0.39	0	0	0.00
45	Navi Mumbai	316	332	14.78	51	51	2.39	0	0	0.00
46	Amravati Commr.	64	67	7.45	2	2	0.23	0	0	0.00
*	**Total Commrs.**	**2410**	**2507**	**7.19**	**212**	**218**	**0.63**	**0**	**0**	**0.00**
*	**Total of M.S**	**12601**	**13334**	**10.58**	**457**	**490**	**0.38**	**1**	**1**	**0.00**

तक्ता क्र. ६ (चालू)

TABLE NO.6 (Continued)

Sr. No.	Unit	Offences Against State						Offences Promoting Enmity Between Different Groups		
		Sedition (Section 124A IPC)			Others			Offences Promoting Enmity Between Different Groups (Total)		
		I	V	R	I	V	R	I	V	R
1	2	231	232	233	234	235	236	237	238	239
1	Akola	0	0	0.00	0	0	0.00	0	0	0.00
2	Amravati Rural	0	0	0.00	0	0	0.00	0	0	0.00
3	Buldhana	0	0	0.00	0	0	0.00	1	1	0.04
4	Yavatmal	0	0	0.00	0	0	0.00	0	0	0.00
5	Washim	0	0	0.00	0	0	0.00	0	0	0.00
*	**Amravati Range**	**0**	**0**	**0.00**	**0**	**0**	**0.00**	**1**	**1**	**0.01**
6	Aurangabad Rural	0	0	0.00	0	0	0.00	0	0	0.00
7	Jalna	0	0	0.00	0	0	0.00	0	0	0.00
8	Beed	0	0	0.00	0	0	0.00	0	0	0.00
9	Osmanabad	0	0	0.00	0	0	0.00	0	0	0.00
*	**Aurangabad Range**	**0**	**0**	**0.00**	**0**	**0**	**0.00**	**0**	**0**	**0.00**
10	Nanded	0	0	0.00	0	0	0.00	1	100	0.03
11	Latur	0	0	0.00	0	0	0.00	0	0	0.00
12	Parbhani	0	0	0.00	0	0	0.00	0	0	0.00
13	Hingoli	0	0	0.00	0	0	0.00	0	0	0.00
*	**Nanded Range**	**0**	**0**	**0.00**	**0**	**0**	**0.00**	**1**	**100**	**0.01**
14	Kolhapur	0	0	0.00	0	0	0.00	0	0	0.00
15	Pune Rural	0	0	0.00	0	0	0.00	0	0	0.00
16	Sangli	0	0	0.00	0	0	0.00	1	1	0.03
17	Satara	0	0	0.00	0	0	0.00	0	0	0.00
18	Solapur Rural	0	0	0.00	0	0	0.00	0	0	0.00
*	**Kolhapur Range**	**0**	**0**	**0.00**	**0**	**0**	**0.00**	**1**	**1**	**0.01**
19	Bhandara	0	0	0.00	0	0	0.00	0	0	0.00
20	Chandrapur	0	0	0.00	0	0	0.00	0	0	0.00
21	Nagpur Rural	0	0	0.00	0	0	0.00	0	0	0.00
22	Wardha	0	0	0.00	0	0	0.00	0	0	0.00
*	**Nagpur Range**	**0**	**0**	**0.00**	**0**	**0**	**0.00**	**0**	**0**	**0.00**
23	Gadchiroli	1	1	0.09	0	0	0.00	0	0	0.00
24	Gondia	0	0	0.00	0	0	0.00	0	0	0.00
*	**Gadchiroli Range**	**1**	**1**	**0.04**	**0**	**0**	**0.00**	**0**	**0**	**0.00**
25	Ahmednagar	0	0	0.00	0	0	0.00	1	1	0.02
26	Dhule	0	0	0.00	0	0	0.00	0	0	0.00
27	Jalgaon	0	0	0.00	0	0	0.00	2	2	0.04
28	Nasik Rural	0	0	0.00	0	0	0.00	1	1	0.02
29	Nandurbar	0	0	0.00	0	0	0.00	3	3	0.17
*	**Nasik Range**	**0**	**0**	**0.00**	**0**	**0**	**0.00**	**7**	**7**	**0.04**
30	Raigad	0	0	0.00	0	0	0.00	16	16	0.85
31	Ratnagiri	0	0	0.00	0	0	0.00	0	0	0.00
32	Sindhudurg	0	0	0.00	0	0	0.00	0	0	0.00
33	Thane Rural	0	0	0.00	0	0	0.00	0	0	0.00
34	Palghar	0	0	0.00	0	0	0.00	0	0	0.00
*	**Thane Range**	**0**	**0**	**0.00**	**0**	**0**	**0.00**	**16**	**16**	**0.16**
35	Mumbai Railway	0	0		0	0		0	0	
36	Pune Railway	0	0		0	0		0	0	
37	Nagpur Railway	0	0		0	0		0	0	
*	**Railway Range**	**0**	**0**		**0**	**0**		**0**	**0**	
38	Nagpur Commr.	0	0	0.00	0	0	0.00	0	0	0.00
39	Pune Commr.	0	0	0.00	0	0	0.00	1	1	0.02
40	Thane Commr.	0	0	0.00	0	0	0.00	1	1	0.02
41	Mumbai Commr.	0	0	0.00	0	0	0.00	3	3	0.02
42	Nasik Commr.	0	0	0.00	0	0	0.00	0	0	0.00
43	Aurangabad Commr.	0	0	0.00	0	0	0.00	4	4	0.25
44	Solapur Commr.	0	0	0.00	0	0	0.00	0	0	0.00
45	Navi Mumbai	0	0	0.00	0	0	0.00	0	0	0.00
46	Amravati Commr.	0	0	0.00	0	0	0.00	0	0	0.00
*	**Total Commrs.**	**0**	**0**	**0.00**	**0**	**0**	**0.00**	**9**	**9**	**0.03**
*	**Total of M.S**	**1**	**1**	**0.00**	**0**	**0**	**0.00**	**35**	**134**	**0.03**

तक्ता क्र. ६ (चालू)

TABLE NO.6 (Continued)

Sr. No.	Unit	Offences Promoting Enmity Between Different Groups						Extortion		
		Promoting Enmity Between Different Groups On Ground Of Religion, Race, Place Of Birth, Etc (Section 153A IPC)			Imputation, Assertions Prejudicial To National Integration (Section 153B IPC)					
		I	V	R	I	V	R	I	V	R
1	2	240	241	242	243	244	245	246	247	248
1	Akola	0	0	0.00	0	0	0.00	12	12	0.63
2	Amravati Rural	0	0	0.00	0	0	0.00	8	8	0.37
3	Buldhana	0	0	0.00	1	1	0.04	3	3	0.11
4	Yavatmal	0	0	0.00	0	0	0.00	8	8	0.27
5	Washim	0	0	0.00	0	0	0.00	10	10	0.78
*	**Amravati Range**	**0**	**0**	**0.00**	**1**	**1**	**0.01**	**41**	**41**	**0.37**
6	Aurangabad Rural	0	0	0.00	0	0	0.00	4	4	0.17
7	Jalna	0	0	0.00	0	0	0.00	5	5	0.24
8	Beed	0	0	0.00	0	0	0.00	8	8	0.29
9	Osmanabad	0	0	0.00	0	0	0.00	4	4	0.23
*	**Aurangabad Range**	**0**	**0**	**0.00**	**0**	**0**	**0.00**	**21**	**21**	**0.23**
10	Nanded	1	100	0.03	0	0	0.00	12	12	0.33
11	Latur	0	0	0.00	0	0	0.00	12	12	0.46
12	Parbhani	0	0	0.00	0	0	0.00	9	9	0.46
13	Hingoli	0	0	0.00	0	0	0.00	2	2	0.16
*	**Nanded Range**	**1**	**100**	**0.01**	**0**	**0**	**0.00**	**35**	**35**	**0.37**
14	Kolhapur	0	0	0.00	0	0	0.00	6	7	0.15
15	Pune Rural	0	0	0.00	0	0	0.00	28	28	0.63
16	Sangli	1	1	0.03	0	0	0.00	26	29	0.87
17	Satara	0	0	0.00	0	0	0.00	15	15	0.47
18	Solapur Rural	0	0	0.00	0	0	0.00	11	11	0.31
*	**Kolhapur Range**	**1**	**1**	**0.01**	**0**	**0**	**0.00**	**86**	**90**	**0.47**
19	Bhandara	0	0	0.00	0	0	0.00	0	0	0.00
20	Chandrapur	0	0	0.00	0	0	0.00	11	11	0.47
21	Nagpur Rural	0	0	0.00	0	0	0.00	4	4	0.18
22	Wardha	0	0	0.00	0	0	0.00	3	3	0.22
*	**Nagpur Range**	**0**	**0**	**0.00**	**0**	**0**	**0.00**	**18**	**18**	**0.25**
23	Gadchiroli	0	0	0.00	0	0	0.00	2	2	0.18
24	Gondia	0	0	0.00	0	0	0.00	3	3	0.21
*	**Gadchiroli Range**	**0**	**0**	**0.00**	**0**	**0**	**0.00**	**5**	**5**	**0.20**
25	Ahmednagar	1	1	0.02	0	0	0.00	13	13	0.27
26	Dhule	0	0	0.00	0	0	0.00	13	13	0.59
27	Jalgaon	2	2	0.04	0	0	0.00	24	24	0.53
28	Nasik Rural	1	1	0.02	0	0	0.00	19	19	0.40
29	Nandurbar	3	3	0.17	0	0	0.00	4	4	0.22
*	**Nasik Range**	**7**	**7**	**0.04**	**0**	**0**	**0.00**	**73**	**73**	**0.40**
30	Raigad	16	16	0.85	0	0	0.00	8	8	0.43
31	Ratnagiri	0	0	0.00	0	0	0.00	7	7	0.43
32	Sindhudurg	0	0	0.00	0	0	0.00	0	0	0.00
33	Thane Rural	0	0	0.00	0	0	0.00	21	21	0.88
34	Palghar	0	0	0.00	0	0	0.00	18	18	0.57
*	**Thane Range**	**16**	**16**	**0.16**	**0**	**0**	**0.00**	**54**	**54**	**0.55**
35	Mumbai Railway	0	0		0	0		1	1	
36	Pune Railway	0	0		0	0		0	0	
37	Nagpur Railway	0	0		0	0		0	0	
*	**Railway Range**	**0**	**0**		**0**	**0**		**1**	**1**	
38	Nagpur Commr.	0	0	0.00	0	0	0.00	78	78	2.88
39	Pune Commr.	1	1	0.02	0	0	0.00	73	74	1.27
40	Thane Commr.	1	1	0.02	0	0	0.00	112	112	2.20
41	Mumbai Commr.	3	3	0.02	0	0	0.00	271	272	2.15
42	Nasik Commr.	0	0	0.00	0	0	0.00	15	15	0.86
43	Aurangabad Commr.	4	4	0.25	0	0	0.00	34	34	2.12
44	Solapur Commr.	0	0	0.00	0	0	0.00	17	17	1.65
45	Navi Mumbai	0	0	0.00	0	0	0.00	39	40	1.82
46	Amravati Commr.	0	0	0.00	0	0	0.00	8	8	0.93
*	**Total Commrs.**	**9**	**9**	**0.03**	**0**	**0**	**0.00**	**647**	**650**	**1.93**
*	**Total of M.S**	**34**	**133**	**0.03**	**1**	**1**	**0.00**	**981**	**988**	**0.82**

तक्ता क्र. ६ (पुर्ण)

TABLE NO.6 (Continued)

Sr. No.	Unit	Disclosure Of Identity Of Victims			Incidence Of Rash Driving/ Road Rage		
		I	V	R	I	V	R
1	2	249	250	251	252	253	254
1	Akola	0	0	0.00	615	631	32.15
2	Amravati Rural	0	0	0.00	993	1278	45.63
3	Buldhana	0	0	0.00	425	435	15.56
4	Yavatmal	0	0	0.00	651	651	22.02
5	Washim	0	0	0.00	193	350	15.06
*	**Amravati Range**	**0**	**0**	**0.00**	**2877**	**3345**	**26.01**
6	Aurangabad Rural	0	0	0.00	1048	1048	44.19
7	Jalna	0	0	0.00	36	36	1.71
8	Beed	0	0	0.00	992	992	35.74
9	Osmanabad	0	0	0.00	545	882	30.87
*	**Aurangabad Range**	**0**	**0**	**0.00**	**2621**	**2958**	**29.06**
10	Nanded	0	0	0.00	1605	1751	44.61
11	Latur	0	0	0.00	362	362	13.76
12	Parbhani	0	0	0.00	202	285	10.24
13	Hingoli	0	0	0.00	313	313	24.76
*	**Nanded Range**	**0**	**0**	**0.00**	**2482**	**2711**	**26.22**
14	Kolhapur	0	0	0.00	798	798	19.36
15	Pune Rural	0	0	0.00	1909	1909	42.92
16	Sangli	0	0	0.00	424	1007	14.14
17	Satara	0	0	0.00	570	570	17.90
18	Solapur Rural	0	0	0.00	612	641	17.13
*	**Kolhapur Range**	**0**	**0**	**0.00**	**4313**	**4925**	**23.54**
19	Bhandara	0	0	0.00	300	538	23.60
20	Chandrapur	0	0	0.00	413	788	17.69
21	Nagpur Rural	0	0	0.00	809	809	35.95
22	Wardha	0	0	0.00	734	734	53.32
*	**Nagpur Range**	**0**	**0**	**0.00**	**2256**	**2869**	**31.19**
23	Gadchiroli	0	0	0.00	93	93	8.14
24	Gondia	0	0	0.00	176	176	12.52
*	**Gadchiroli Range**	**0**	**0**	**0.00**	**269**	**269**	**10.56**
25	Ahmednagar	0	0	0.00	1187	1187	24.72
26	Dhule	0	0	0.00	386	553	17.53
27	Jalgaon	0	0	0.00	502	875	11.11
28	Nasik Rural	0	0	0.00	1957	1979	41.10
29	Nandurbar	0	0	0.00	201	702	11.30
*	**Nasik Range**	**0**	**0**	**0.00**	**4233**	**5296**	**23.43**
30	Raigad	0	0	0.00	461	461	24.56
31	Ratnagiri	0	0	0.00	716	825	44.33
32	Sindhudurg	0	0	0.00	97	97	11.41
33	Thane Rural	0	0	0.00	178	178	7.43
34	Palghar	0	0	0.00	200	392	6.33
*	**Thane Range**	**0**	**0**	**0.00**	**1652**	**1953**	**16.69**
35	Mumbai Railway	0	0		0	0	
36	Pune Railway	0	0		0	0	
37	Nagpur Railway	0	0		0	0	
*	**Railway Range**	**0**	**0**		**0**	**0**	
38	Nagpur Commr.	0	0	0.00	1282	1282	47.41
39	Pune Commr.	0	0	0.00	1313	1350	22.87
40	Thane Commr.	0	0	0.00	903	903	17.75
41	Mumbai Commr.	0	0	0.00	3963	3963	31.38
42	Nasik Commr.	0	0	0.00	567	633	32.57
43	Aurangabad Commr.	0	0	0.00	1017	1017	63.48
44	Solapur Commr.	0	0	0.00	287	287	27.93
45	Navi Mumbai	0	0	0.00	607	856	28.39
46	Amravati Commr.	0	0	0.00	519	566	60.42
*	**Total Commrs.**	**0**	**0**	**0.00**	**10458**	**10857**	**31.19**
*	**Total of M.S**	**0**	**0**	**0.00**	**31161**	**35183**	**26.15**

तक्ता क्र. ६ (पूर्ण)

TABLE NO 6 (CONCLUDED)

Sr. No.	Unit	Human Trafficking			Unnatural Offences			Other IPC Crimes			Total Cognizable IPC Crimes (Column 3 To 190 Excluding Sub Heads)		
		I	V	R	I	V	R	I	V	R	I	V	R
1	2	255	256	257	258	259	260	261	262	263	264	265	266
1	Akola	0	0	0.00	1	1	0.05	1780	1998	93.05	4423	4803	231.21
2	Amravati Rural	0	0	0.00	2	2	0.09	3118	3119	143.29	7380	7699	339.15
3	Buldhana	0	0	0.00	3	3	0.11	2179	2111	79.76	4959	4941	181.52
4	Yavatmal	0	0	0.00	3	3	0.10	3310	3310	111.95	8148	8148	275.58
5	Washim	0	0	0.00	1	1	0.08	993	993	77.48	2759	2937	215.27
*	**Amravati Range**	0	0	0.00	10	10	0.09	11380	11531	102.90	27669	28528	250.19
6	Aurangabad Rural	0	0	0.00	1	1	0.04	1194	1193	50.34	5168	5167	217.90
7	Jalna	0	0	0.00	0	0	0.00	1159	1159	54.98	3646	3643	172.96
8	Beed	0	0	0.00	2	2	0.07	1303	1303	46.94	5480	5725	197.43
9	Osmanabad	0	0	0.00	1	1	0.06	828	828	46.90	3316	3702	187.83
*	**Aurangabad Range**	0	0	0.00	4	4	0.04	4484	4483	49.71	17610	18237	195.22
10	Nanded	1	1	0.03	1	1	0.03	1427	1437	39.66	5654	5993	157.14
11	Latur	0	0	0.00	0	0	0.00	2018	1826	76.72	4616	4424	175.48
12	Parbhani	0	0	0.00	1	1	0.05	1833	1833	92.95	4083	4196	207.04
13	Hingoli	0	0	0.00	1	1	0.08	693	693	54.82	1941	1950	153.55
*	**Nanded Range**	0	1	0.00	3	3	0.03	5971	5789	63.09	16294	16563	172.16
14	Kolhapur	0	0	0.00	0	0	0.00	1350	814	32.75	6109	5716	148.21
15	Pune Rural	0	0	0.00	4	4	0.09	2276	2284	51.17	11803	11858	265.36
16	Sangli	0	0	0.00	2	2	0.07	3347	3484	111.63	6317	7335	210.68
17	Satara	2	3	0.06	1	1	0.03	2109	2115	66.24	6640	6664	208.55
18	Solapur Rural	0	0	0.00	3	3	0.08	3281	3282	91.81	7284	7549	203.83
*	**Kolhapur Range**	2	3	0.01	10	10	0.05	12363	11979	67.46	38153	39122	208.20
19	Bhandara	0	0	0.00	2	2	0.16	528	499	41.54	2016	2309	158.62
20	Chandrapur	0	0	0.00	5	5	0.21	1700	1704	72.81	4414	4832	189.04
21	Nagpur Rural	0	0	0.00	1	1	0.04	1196	1196	53.14	4467	4467	198.48
22	Wardha	0	0	0.00	1	1	0.07	1335	1335	96.98	4059	4074	294.86
*	**Nagpur Range**	0	0	0.00	9	9	0.12	4759	4734	65.80	14956	15682	206.77
23	Gadchiroli	0	0	0.00	0	0	0.00	703	708	61.57	1499	1542	131.28
24	Gondia	0	0	0.00	0	0	0.00	640	640	45.52	1882	1882	133.85
*	**Gadchiroli Range**	0	0	0.00	0	0	0.00	1343	1348	52.71	3381	3424	132.70
25	Ahmednagar	0	0	0.00	0	0	0.00	1117	1098	23.26	8018	8029	166.97
26	Dhule	0	0	0.00	0	0	0.00	721	721	32.74	2738	2936	124.33
27	Jalgaon	0	0	0.00	3	3	0.07	2698	2891	59.71	6609	7380	146.27
28	Nasik Rural	0	0	0.00	2	2	0.04	808	15	16.97	7232	6725	151.87
29	Nandurbar	0	0	0.00	0	0	0.00	378	375	21.24	1388	2321	78.01
*	**Nasik Range**	0	0	0.00	5	5	0.03	5722	5100	31.68	25985	27391	143.85
30	Raigad	0	0	0.00	3	3	0.16	478	478	25.47	3127	3112	166.62
31	Ratnagiri	0	0	0.00	2	2	0.12	299	307	18.51	2188	2335	135.48
32	Sindhudurg	0	0	0.00	0	0	0.00	192	192	22.59	838	838	98.59
33	Thane Rural	0	0	0.00	0	0	0.00	745	755	31.08	4007	4034	167.17
34	Palghar	0	0	0.00	1	1	0.03	812	606	25.69	5343	5363	169.03
*	**Thane Range**	0	0	0.00	6	6	0.06	2526	2338	25.52	15503	15682	156.60
35	Mumbai Railway	2	7		0	0		163	167		4234	4249	
36	Pune Railway	0	0		0	0		36	38		780	790	
37	Nagpur Railway	0	0		0	0		78	78		2263	2263	
*	**Railway Range**	2	7		0	0		277	283		7277	7302	
38	Nagpur Commr.	1	1	0.04	5	5	0.18	2390	2390	88.39	11018	11072	407.47
39	Pune Commr.	1	1	0.02	17	17	0.30	2077	1670	36.18	15349	15107	267.40
40	Thane Commr.	0	0	0.00	17	17	0.33	3338	3343	65.62	15204	15505	298.88
41	Mumbai Commr.	0	0	0.00	59	61	0.47	10621	10441	84.09	42940	42972	339.98
42	Nasik Commr.	0	0	0.00	2	2	0.11	526	546	30.21	3963	4080	227.63
43	Aurangabad Commr.	0	0	0.00	1	1	0.06	1194	1171	74.53	7051	7050	440.14
44	Solapur Commr.	0	0	0.00	1	1	0.10	506	506	49.24	2583	2585	251.37
45	Navi Mumbai	0	0	0.00	9	9	0.42	1042	1062	48.74	5990	6332	280.17
46	Amravati Commr.	0	0	0.00	1	1	0.12	1435	1445	167.05	4488	4641	522.47
*	**Total Commrs.**	**2**	**2**	0.19	**112**	**114**	10.90	**23129**	**22574**	2250.85	**108586**	**109344**	**323.86**
*	**Total of M.S**	**6**	**13**	0.28	**159**	**161**	7.44	**71954**	**70159**	3365.48	**275414**	**281275**	**231.16**

तक्ता क्र. ६ (अ)

जिल्हा व आयुक्तालय-निहाय मालमत्तेचे गुन्हे चे शीर्ष-निहाय दाखल गुन्हे सन २०१५

Table 6(A)

Incidence of IPC Crimes Against Property During 2015

Sr.No.	Unit	Dacoity	Making Preparation And Assembly For Committing Dacoity	Robbery	Criminal Trespass / Burglary	Theft	Total IPC Crimes Against Property	Percentage share	Crime Rate	Percentage To Total IPC Cog. Crimes
1	2	3	4	5	6	7	8	9	10	11
1	Akola	3	0	87	137	741	968	1.1	50.6	21.9
2	Amravati Rural	10	1	55	227	1265	1558	1.8	71.6	21.1
3	Buldhana	9	1	52	185	672	919	1.1	33.6	18.5
4	Yavatmal	12	2	119	329	1593	2055	2.4	69.5	25.2
5	Washim	15	0	29	114	485	643	0.7	50.2	23.3
*	**Amravati Range**	**49**	**4**	**342**	**992**	**4756**	**6143**	**7.0**	**55.5**	**22.2**
6	Aurangabad Rural	29	6	74	237	1049	1395	1.6	58.8	27.0
7	Jalna	11	7	66	236	576	896	1.0	42.5	24.6
8	Beed	32	6	110	239	863	1250	1.4	45.0	22.8
9	Osmanabad	18	4	46	172	530	770	0.9	43.6	23.2
*	**Aurangabad Range**	**90**	**23**	**296**	**884**	**3018**	**4311**	**4.9**	**47.8**	**24.5**
10	Nanded	13	2	83	249	688	1035	1.2	28.8	18.3
11	Latur	16	2	61	190	626	895	1.0	34.0	19.4
12	Parbhani	3	1	37	228	527	796	0.9	40.4	19.5
13	Hingoli	9	1	21	89	153	273	0.3	21.6	14.1
*	**Nanded Range**	**41**	**6**	**202**	**756**	**1994**	**2999**	**3.4**	**31.7**	**18.4**
14	Kolhapur	18	4	161	318	947	1448	1.7	35.1	23.7
15	Pune Rural	50	18	226	647	2659	3600	4.1	80.9	30.5
16	Sangli	14	3	83	189	618	907	1.0	30.3	14.4
17	Satara	40	10	209	335	1234	1828	2.1	57.4	27.5
18	Solapur Rural	30	8	65	202	971	1276	1.5	35.7	17.5
*	**Kolhapur Range**	**152**	**43**	**744**	**1691**	**6429**	**9059**	**10.4**	**49.4**	**23.7**
19	Bhandara	0	0	21	166	378	565	0.6	44.5	28.0
20	Chandrapur	5	1	44	217	607	874	1.0	37.4	19.8
21	Nagpur Rural	7	1	45	295	883	1231	1.4	54.7	27.6
22	Wardha	2	4	46	186	726	964	1.1	70.0	23.7
*	**Nagpur Range**	**14**	**6**	**156**	**864**	**2594**	**3634**	**4.2**	**50.2**	**24.3**
23	Gadchiroli	4	0	8	94	135	241	0.3	21.1	16.1
24	Gondia	0	1	21	101	310	433	0.5	30.8	23.0
*	**Gadchiroli Range**	**4**	**1**	**29**	**195**	**445**	**674**	**0.8**	**26.5**	**19.9**
25	Ahmednagar	63	20	278	448	1839	2648	3.0	55.1	33.0
26	Dhule	21	6	60	114	360	561	0.6	25.5	20.5
27	Jalgaon	36	9	124	232	917	1318	1.5	29.2	19.9
28	Nasik Rural	34	4	115	291	927	1371	1.6	28.8	19.0
29	Nandurbar	2	0	23	70	207	302	0.3	17.0	21.8
*	**Nasik Range**	**156**	**39**	**600**	**1155**	**4250**	**6200**	**7.1**	**34.3**	**23.9**
30	Raigad	10	3	62	259	585	919	1.1	49.0	29.4
31	Ratnagiri	5	1	42	123	354	525	0.6	32.5	24.0
32	Sindhudurg	1	0	16	85	120	222	0.3	26.1	26.5
33	Thane Rural	9	2	175	336	850	1372	1.6	57.2	34.2
34	Palghar	24	8	232	634	1143	2041	2.3	64.6	38.2
*	**Thane Range**	**49**	**14**	**527**	**1437**	**3052**	**5079**	**5.8**	**51.3**	**32.8**
35	Mumbai Railway	6	1	531	2	3285	3825	4.4	-	90.3
36	Pune Railway	5	2	79	1	604	691	0.8	-	88.6
37	Nagpur Railway	8	0	78	3	1993	2082	2.4	-	92.0
*	**Railway Range**	**19**	**3**	**688**	**6**	**5882**	**6598**	**7.6**	**-**	**90.7**
38	Nagpur Commr.	21	27	464	1079	3044	4635	5.3	171.4	42.1
39	Pune Commr.	40	28	731	1194	5037	7030	8.1	122.5	45.8
40	Thane Commr.	37	13	1202	1619	3526	6397	7.3	125.8	42.1
41	Mumbai Commr.	48	29	1708	3010	10422	15217	17.4	120.5	35.4
42	Nasik Commr.	10	9	187	300	1164	1670	1.9	95.9	42.1
43	Aurangabad Commr.	27	23	210	349	2220	2829	3.2	176.6	40.1
44	Solapur Commr.	9	1	85	204	785	1084	1.2	105.5	42.0
45	Navi Mumbai	17	6	313	609	1324	2269	2.6	106.1	37.9
46	Amravati Commr.	1	0	77	237	1186	1501	1.7	174.7	33.4
*	**Total Commrs.**	**210**	**136**	**4977**	**8601**	**28708**	**42632**	**48.8**	**127.2**	**39.3**
*	**Total of M.S**	**784**	**275**	**8561**	**16581**	**61128**	**87329**	**100.0**	**73.3**	**31.7**

तक्ता क्र. ६ (ब)

जिल्हा व आयुक्तालय-निहाय आर्थिक गुन्हे चे शीर्ष-निहाय दाखल गुन्हे सन २०१५

Table 6 B

Incidence of IPC Economic Crimes During 2015

Sr. No.	Unit	Criminal Breach of Trust	Cheating	Counter-feiting	Forgery	Total Economic Crimes	Percentage share	Crime Rate	Percentage To Total IPC Cog. Crimes
1	2	3	4	5	6	7	8	9	10
1	Akola	13	93	2	3	111	0.8	5.8	2.5
2	Amravati Rural	14	87	0	0	101	0.7	4.6	1.4
3	Buldhana	14	103	0	9	126	0.9	4.6	2.5
4	Yavatmal	27	147	0	2	176	1.3	6.0	2.2
5	Washim	12	63	0	1	76	0.6	5.9	2.8
*	**Amravati Range**	**80**	**493**	**2**	**15**	**590**	**4.3**	**5.3**	**2.1**
6	Aurangabad Rural	7	106	2	0	115	0.8	4.8	2.2
7	Jalna	7	118	0	0	125	0.9	5.9	3.4
8	Beed	34	94	2	1	131	1.0	4.7	2.4
9	Osmanabad	19	106	0	1	126	0.9	7.1	3.8
*	**Aurangabad Range**	**67**	**424**	**4**	**2**	**497**	**3.6**	**5.5**	**2.8**
10	Nanded	22	150	3	3	178	1.3	4.9	3.1
11	Latur	18	105	0	0	123	0.9	4.7	2.7
12	Parbhani	6	132	0	1	139	1.0	7.0	3.4
13	Hingoli	9	23	0	0	32	0.2	2.5	1.6
*	**Nanded Range**	**55**	**410**	**3**	**4**	**472**	**3.4**	**5.0**	**2.9**
14	Kolhapur	56	284	0	0	340	2.5	8.2	5.6
15	Pune Rural	47	308	0	5	360	2.6	8.1	3.1
16		23	162	2	5	192	1.4	6.4	3.0
17	Satara	29	177	13	4	223	1.6	7.0	3.4
18	Solapur Rural	14	41	71	4	130	0.9	3.6	1.8
*	**Kolhapur Range**	**169**	**972**	**86**	**18**	**1245**	**9.1**	**6.8**	**3.3**
19	Bhandara	9	42	1	1	53	0.4	4.2	2.6
20	Chandrapur	33	92	0	1	126	0.9	5.4	2.9
21	Nagpur Rural	21	55	0	2	78	0.6	3.5	1.7
22	Wardha	24	96	1	4	125	0.9	9.1	3.1
*	**Nagpur Range**	**87**	**285**	**2**	**8**	**382**	**2.8**	**5.3**	**2.6**
23	Gadchiroli	5	37	0	1	43	0.3	3.8	2.9
24	Gondia	10	62	0	1	73	0.5	5.2	3.9
*	**Gadchiroli Range**	**15**	**99**	**0**	**2**	**116**	**0.8**	**4.6**	**3.4**
25	Ahmednagar	26	167	0	1	194	1.4	4.0	2.4
26	Dhule	44	60	0	1	105	0.8	4.8	3.8
27	Jalgaon	83	154	0	3	240	1.7	5.3	3.6
28	Nasik Rural	30	179	0	1	210	1.5	4.4	2.9
29	Nandurbar	5	19	4	1	29	0.2	1.6	2.1
*	**Nasik Range**	**188**	**579**	**4**	**7**	**778**	**5.7**	**4.3**	**3.0**
30	Raigad	36	200	4	3	243	1.8	12.9	7.8
31	Ratnagiri	15	89	3	1	108	0.8	6.7	4.9
32	Sindhudurg	11	17	13	7	48	0.3	5.6	5.7
33	Thane Rural	28	259	1	0	288	2.1	12.0	7.2
34	Palghar	43	267	8	5	323	2.4	10.2	6.0
*	**Thane Range**	**133**	**832**	**29**	**16**	**1010**	**7.4**	**10.2**	**6.5**
35	Mumbai Railway	6	78	0	1	85	0.6	-	2.0
36	Pune Railway	1	6	0	0	7	0.1	-	0.9
37	Nagpur Railway	7	4	0	6	17	0.1	-	0.8
*	**Railway Range**	**14**	**88**	**0**	**7**	**109**	**0.8**	**-**	**1.5**
38	Nagpur Commr.	73	313	77	1	464	3.4	17.2	4.2
39	Pune Commr.	108	784	3	12	907	6.6	15.8	5.9
40	Thane Commr.	107	931	5	13	1056	7.7	20.8	6.9
41	Mumbai Commr.	761	2937	754	50	4502	32.8	35.6	10.5
42	Nasik Commr.	17	161	1	16	195	1.4	11.2	4.9
43	Aurangabad Commr.	56	362	2	3	423	3.1	26.4	6.0
44	Solapur Commr.	15	108	0	3	126	0.9	12.3	4.9
45	Navi Mumbai	71	577	5	10	663	4.8	31.0	11.1
46	Amravati Commr.	26	135	34	3	198	1.4	23.1	4.4
*	**Total Commrs.**	**1234**	**6308**	**881**	**111**	**8534**	**62.1**	**25.5**	**7.9**
*	**Total of M.S**	**2042**	**10490**	**1011**	**190**	**13733**	**100.0**	**11.5**	**5.0**

तक्ता क्र. ७

जिल्हा व आयुक्तालय-निहाय भा.दं.वि. चे २०१५ मधील दाखल गुन्ह्यांची सन २०१४ च्या तुलनेतील शीर्ष-निहाय वाढ/घट

Table No. 7

Incidence of Cognizable Crimes (IPC) under Different Crime Heads During 2015

Percentage Variation Over 2014

Sr. No.	Unit	Murder			Attempt to Commit Murder		
		2014	2015	% Variation	2014	2015	% Variation
1	2	3	4	5	6	7	8
1	Akola	52	44	-15.4	50	42	-16.0
2	Amravati Rural	51	60	17.6	63	67	6.3
3	Buldhana	59	54	-8.5	55	32	-41.8
4	Yavatmal	75	75	0.0	98	71	-27.6
5	Washim	31	26	-16.1	62	55	-11.3
	Amravati Range	**268**	**259**	**-3.4**	**328**	**267**	**-18.6**
6	Aurangabad Rural	49	54	10.2	63	68	7.9
7	Jalna	64	40	-37.5	76	72	-5.3
8	Beed	75	66	-12.0	93	96	3.2
9	Osmanabad	39	39	0.0	58	43	-25.9
*	**Aurangabad Range**	**227**	**199**	**-12.3**	**290**	**279**	**-3.8**
10	Nanded	73	60	-17.8	73	55	-24.7
11	Latur	74	59	-20.3	61	40	-34.4
12	Parbhani	44	45	2.3	82	78	-4.9
13	Hingoli	27	35	29.6	28	33	17.9
*	**Nanded Range**	**218**	**199**	**-8.7**	**244**	**206**	**-15.6**
14	Kolhapur	64	47	-26.6	68	83	22.1
15	Pune Rural	153	167	9.2	125	102	-18.4
16	Sangli	50	56	12.0	47	51	8.5
17	Satara	67	57	-14.9	39	59	51.3
18	Solapur Rural	87	70	-19.5	75	87	16.0
*	**Kolhapur Range**	**421**	**397**	**-5.7**	**354**	**382**	**7.9**
19	Bhandara	20	27	35.0	17	29	70.6
20	Chandrapur	51	29	-43.1	50	54	8.0
21	Nagpur Rural	69	58	-15.9	46	40	-13.0
22	Wardha	35	46	31.4	64	34	-46.9
*	**Nagpur Range**	**175**	**160**	**-8.6**	**177**	**157**	**-11.3**
23	Gadchiroli	54	52	-3.7	55	49	-10.9
24	Gondia	33	28	-15.2	21	31	47.6
*	**Gadchiroli Range**	**87**	**80**	**-8.0**	**76**	**80**	**5.3**
25	Ahmednagar	109	111	1.8	74	90	21.6
26	Dhule	38	35	-7.9	46	39	-15.2
27	Jalgaon	80	72	-10.0	77	71	-7.8
28	Nasik Rural	98	104	6.1	65	78	20.0
29	Nandurbar	36	31	-13.9	19	20	5.3
*	**Nasik Range**	**361**	**353**	**-2.2**	**281**	**298**	**6.0**
30	Raigad	31	35	12.9	17	30	76.5
31	Ratnagiri	11	14	27.3	15	10	-33.3
32	Sindhudurg	7	9	28.6	10	4	-60.0
33	Thane Rural	51	53	3.9	23	28	21.7
34	Palghar	85	92	8.2	36	35	-2.8
*	Thane Range	185	203	9.7	101	107	5.9
35	Mumbai Railway	17	6	-64.7	2	5	150.0
36	Pune Railway	8	5	-37.5	1	1	0.0
	Nagpur Railway	2	7	250.0	1	5	400.0
*	Railway Range	27	18	-33.3	4	11	175.0
38	Nagpur Commr.	103	79	-23.3	92	84	-8.7
39	Pune Commr.	138	125	-9.4	181	180	-0.6
40	Thane Commr.	117	106	-9.4	122	181	48.4
41	Mumbai Commr.	183	169	-7.7	181	231	27.6
42	Nasik Commr.	26	40	53.8	30	43	43.3
43	Aurangabad Commr.	35	35	0.0	54	82	51.9
44	Solapur Commr.	21	15	-28.6	26	31	19.2
45	Navi Mumbai	51	48	-5.9	23	27	17.4
46	Amravati Commr.	27	24	-11.1	49	37	-24.5
*	**Total Commrs.**	**701**	**641**	**-8.6**	**758**	**896**	**18.2**
*	**Total of M.S**	**2670**	**2509**	**-6.0**	**2613**	**2683**	**2.7**

तक्ता क्र. ७

TABLE No.7 (Continued)

Sr. No.	Unit	C.H. Not Amounting to Murder			Attempt to C.H. Not Amounting to Murder		
		2014	2015	% Variation	2014	2015	% Variation
1	2	9	10	11	12	13	14
1	Akola	3	2	-33.3	0	0	-
2	Amravati Rural	5	2	-60.0	0	0	-
3	Buldhana	5	4	-20.0	0	0	-
4	Yavatmal	5	7	40.0	0	0	-
5	Washim	5	4	-20.0	0	0	-
	Amravati Range	**23**	**19**	**-17.4**	**0**	**0**	
6	Aurangabad Rural	1	2	100.0	0	0	-
7	Jalna	4	6	50.0	0	0	-
8	Beed	2	2	0.0	0	0	-
9	Osmanabad	2	1	-50.0	0	0	-
*	**Aurangabad Range**	**9**	**11**	**22.2**	**0**	**0**	**-**
10	Nanded	4	1	-75.0	0	0	-
11	Latur	1	3	200.0	0	0	-
12	Parbhani	3	3	0.0	0	0	-
13	Hingoli	1	1	0.0	0	0	-
*	**Nanded Range**	**9**	**8**	**-11.1**	**0**	**0**	**-**
14	Kolhapur	3	7	133.3	0	0	-
15	Pune Rural	11	11	0.0	0	0	-
16	Sangli	1	3	200.0	0	0	-
17	Satara	9	6	-33.3	0	0	-
18	Solapur Rural	9	4	-55.6	0	1	-
*	**Kolhapur Range**	**33**	**31**	**-6.1**	**0**	**1**	**-**
19	Bhandara	3	2	-33.3	0	0	-
20	Chandrapur	3	4	33.3	0	0	-
21	Nagpur Rural	11	5	-54.5	0	0	-
22	Wardha	8	5	-37.5	0	0	-
*	**Nagpur Range**	**25**	**16**	**-36.0**	**0**	**0**	**-**
23	Gadchiroli	2	3	50.0	0	0	-
24	Gondia	3	0	-100.0	0	0	-
*	**Gadchiroli Range**	**5**	**3**	**-40.0**	**0**	**0**	**-**
25	Ahmednagar	6	5	-16.7	0	0	-
26	Dhule	1	3	200.0	0	0	-
27	Jalgaon	2	4	100.0	0	0	-
28	Nasik Rural	6	4	-33.3	0	0	-
29	Nandurbar	5	2	-60.0	0	0	-
*	**Nasik Range**	**20**	**18**	**-10.0**	**0**	**0**	**-**
30	Raigad	0	6		0	0	-
31	Ratnagiri	3	4	33.3	0	0	-
32	Sindhudurg	1	0	-100.0	8	7	-12.5
33	Thane Rural	11	4	-63.6	0	0	-
34	Palghar	8	2	-75.0	0	0	-
*	Thane Range	23	16	-30.4	8	7	-12.5
35	Mumbai Railway	0	1		0	1	-
36	Pune Railway	0	0		0	0	-
	Nagpur Railway	0	0		0	0	-
*	Railway Range	0	1		0	1	-
38	Nagpur Commr.	5	3	-40.0	0	0	-
39	Pune Commr.	9	10	11.1	0	1	-
40	Thane Commr.	2	7	250.0	2	0	-100.0
41	Mumbai Commr.	4	1	-75.0	1	1	0.0
42	Nasik Commr.	0	0		0	0	-
43	Aurangabad Commr.	0	3		0	1	-
44	Solapur Commr.	0	0		0	0	-
45	Navi Mumbai	2	2	0.0	0	0	-
46	Amravati Commr.	2	2	0.0	0	0	-
*	**Total Commrs.**	**24**	**28**	**16.7**	**3**	**3**	**0.0**
*	**Total of M.S**	**171**	**151**	**-11.7**	**11**	**12**	**9.1**

तक्ता क्र. ७ (चालू)

TABLE No.7 (Continued)

Sr. No.	Unit	Rape								
		Rape(Total)			Custodial Rape			Rape Other than Custodial		
		2014	2015	% Variation	2014	2015	% Variation	2014	2015	% Variation
1	2	15	16	17	18	19	20	21	22	23
1	Akola	52	44	-15.4	0	0	-	52	44	-15.4
2	Amravati Rural	103	122	18.4	0	0	-	103	122	18.4
3	Buldhana	57	63	10.5	0	0	-	57	63	10.5
4	Yavatmal	108	98	-9.3	0	0	-	108	98	-9.3
5	Washim	33	30	-9.1	0	0	-	33	30	-9.1
	Amravati Range	**353**	**357**	**1.1**	**0**	**0**		**353**	**357**	**1.1**
6	Aurangabad Rural	31	45	45.2	0	0	-	31	45	45.2
7	Jalna	33	47	42.4	0	0	-	33	47	42.4
8	Beed	70	78	11.4	0	0	-	70	78	11.4
9	Osmanabad	43	54	25.6	0	0	-	43	54	25.6
*	**Aurangabad Range**	**177**	**224**	**26.6**	**0**	**0**		**177**	**224**	**26.6**
10	Nanded	43	70	62.8	0	0	-	43	70	62.8
11	Latur	57	54	-5.3	0	0	-	57	54	-5.3
12	Parbhani	38	44	15.8	0	0	-	38	44	15.8
13	Hingoli	24	22	-8.3	0	0	-	24	22	-8.3
*	**Nanded Range**	**162**	**190**	**17.3**	**0**	**0**		**162**	**190**	**17.3**
14	Kolhapur	84	93	10.7	0	0	-	84	93	10.7
15	Pune Rural	147	181	23.1	0	0	-	147	181	23.1
16	Sangli	66	67	1.5	0	0	-	66	67	1.5
17	Satara	97	114	17.5	0	0	-	97	114	17.5
18	Solapur Rural	97	109	12.4	0	0	-	97	109	12.4
*	**Kolhapur Range**	**491**	**564**	**14.9**	**0**	**0**	**-**	**491**	**564**	**14.9**
19	Bhandara	28	25	-10.7	0	0	-	28	25	-10.7
20	Chandrapur	99	126	27.3	0	0	-	99	126	27.3
21	Nagpur Rural	65	84	29.2	0	0	-	65	84	29.2
22	Wardha	62	60	-3.2	0	0	-	62	60	-3.2
*	**Nagpur Range**	**254**	**295**	**16.1**	**0**	**0**	**-**	**254**	**295**	**16.1**
23	Gadchiroli	22	41	86.4	0	0	-	22	41	86.4
24	Gondia	58	56	-3.4	0	0	-	58	56	-3.4
*	**Gadchiroli Range**	**80**	**97**	**21.3**	**0**	**0**	**-**	**80**	**97**	**21.3**
25	Ahmednagar	103	106	2.9	0	0	-	103	106	2.9
26	Dhule	35	35	0.0	0	0	-	35	35	0.0
27	Jalgaon	66	66	0.0	0	0	-	66	66	0.0
28	Nasik Rural	87	103	18.4	0	0	-	87	103	18.4
29	Nandurbar	25	25	0.0	0	0	-	25	25	0.0
*	**Nasik Range**	**316**	**335**	**6.0**	**0**	**0**	**-**	**316**	**335**	**6.0**
30	Raigad	47	88	87.2	0	0	-	47	88	87.2
31	Ratnagiri	34	48	41.2	0	0	-	34	48	41.2
32	Sindhudurg	12	28	133.3	0	0	-	12	28	133.3
33	Thane Rural	75	86	14.7	0	0	-	75	86	14.7
34	Palghar	98	135	37.8	0	0	-	98	135	37.8
*	Thane Range	266	385	44.7	0	0	-	266	385	44.7
35	Mumbai Railway	1	5	400.0	0	0	-	1	5	400.0
36	Pune Railway	2	4	100.0	0	0	-	2	4	100.0
	Nagpur Railway	3	6	100.0	0	0	-	3	6	100.0
*	Railway Range	6	15	150.0	0	0	-	6	15	150.0
38	Nagpur Commr.	113	166	46.9	0	0	-	113	166	46.9
39	Pune Commr.	189	266	40.7	0	0	-	189	266	40.7
40	Thane Commr.	215	251	16.7	0	0	-	215	251	16.7
41	Mumbai Commr.	607	712	17.3	0	0	-	607	712	17.3
42	Nasik Commr.	28	30	7.1	0	0	-	28	30	7.1
43	Aurangabad Commr.	27	65	140.7	0	0	-	27	65	140.7
44	Solapur Commr.	39	49	25.6	0	0	-	39	49	25.6
45	Navi Mumbai	88	104	18.2	0	0	-	88	104	18.2
46	Amravati Commr.	27	39	44.4	0	0	-	27	39	44.4
*	**Total Commrs.**	**1333**	**1682**	**26.2**	**0**	**0**	**-**	**1333**	**1682**	**26.2**
*	**Total of M.S**	**3438**	**4144**	**20.5**	**0**	**0**	**-**	**3438**	**4144**	**20.5**

तक्ता क्र. ७ (चालू)

TABLE No.7 (Continued)

Sr. No.	Unit	Attempt To Commit Rape			Kidnapping & Abduction			Dacoity		
		2014	2015	% Variation	2014	2015	% Variation	2014	2015	% Variation
1	2	24	25	26	27	28	29	30	31	32
1	Akola	1	0	-100.0	42	73	73.8	14	3	-78.6
2	Amravati Rural	0	0		76	122	60.5	6	10	66.7
3	Buldhana	0	0		44	41	-6.8	12	9	-25.0
4	Yavatmal	0	2		157	144	-8.3	19	12	-36.8
5	Washim	0	0		32	54	68.8	6	15	150.0
	Amravati Range	**1**	**2**	**100.0**	**351**	**434**	**23.6**	**57**	**49**	**-14.0**
6	Aurangabad Rural	0	0		37	75	102.7	18	29	61.1
7	Jalna	0	0		39	78	100.0	12	11	-8.3
8	Beed	0	0		72	122	69.4	21	32	52.4
9	Osmanabad	0	0		28	65	132.1	19	18	-5.3
*	**Aurangabad Range**	**0**	**0**		**176**	**340**	**93.2**	**70**	**90**	**28.6**
10	Nanded	0	0		95	138	45.3	8	13	62.5
11	Latur	0	0		84	114	35.7	31	16	-48.4
12	Parbhani	0	0		64	108	68.8	26	3	-88.5
13	Hingoli	0	0		29	37	27.6	2	9	350.0
*	**Nanded Range**	**0**	**0**		**272**	**397**	**46.0**	**67**	**41**	**-38.8**
14	Kolhapur	0	0		70	185	164.3	18	18	0.0
15	Pune Rural	1	0	-100.0	157	383	143.9	87	50	-42.5
16	Sangli	1	0	-100.0	68	130	91.2	11	14	27.3
17	Satara	0	1		88	201	128.4	46	40	-13.0
18	Solapur Rural	2	2	0.0	93	138	48.4	22	30	36.4
*	**Kolhapur Range**	**4**	**3**	**-25.0**	**476**	**1037**	**117.9**	**184**	**152**	**-17.4**
19	Bhandara	0	0		23	68	195.7	1	0	-100.0
20	Chandrapur	1	1	0.0	49	138	181.6	9	5	-44.4
21	Nagpur Rural	0	0		35	80	128.6	7	7	0.0
22	Wardha	0	0		37	80	116.2	14	2	-85.7
*	**Nagpur Range**	**1**	**1**	**0.0**	**144**	**366**	**154.2**	**31**	**14**	**-54.8**
23	Gadchiroli	1	1	0.0	8	22	175.0	4	4	0.0
24	Gondia	0	0		26	78	200.0	1	0	-100.0
*	**Gadchiroli Range**	**1**	**1**	**0.0**	**34**	**100**	**194.1**	**5**	**4**	**-20.0**
25	Ahmednagar	1	1	0.0	121	229	89.3	44	63	43.2
26	Dhule	0	0		43	28	-34.9	32	21	-34.4
27	Jalgaon	0	1		84	107	27.4	43	36	-16.3
28	Nasik Rural	0	0		108	177	63.9	27	34	25.9
29	Nandurbar	0	0		21	27	28.6	6	2	-66.7
*	**Nasik Range**	**1**	**2**	**100.0**	**377**	**568**	**50.7**	**152**	**156**	**2.6**
30	Raigad	1	3	200.0	41	75	82.9	6	10	66.7
31	Ratnagiri	1	0	-100.0	19	57	200.0	2	5	150.0
32	Sindhudurg	1	0	-100.0	10	19	90.0	5	1	-80.0
33	Thane Rural	0	0		71	177	149.3	27	9	-66.7
34	Palghar	0	0		114	409	258.8	21	24	14.3
*	Thane Range	3	3	0.0	255	737	189.0	61	49	-19.7
35	Mumbai Railway	0	0		17	23	35.3	0	6	#DIV/0!
36	Pune Railway	0	0		3	13	333.3	8	5	-37.5
	Nagpur Railway	0	0		2	11	450.0	6	8	33.3
*	Railway Range	0	0		22	47	113.6	14	19	35.7
38	Nagpur Commr.	2	1	-50.0	145	355	144.8	16	21	31.3
39	Pune Commr.	0	0		228	707	210.1	92	40	-56.5
40	Thane Commr.	0	0		435	793	82.3	35	37	5.7
41	Mumbai Commr.	2	0	-100.0	541	1583	192.6	34	48	41.2
42	Nasik Commr.	0	0		59	166	181.4	13	10	-23.1
43	Aurangabad Commr.	0	0		63	174	176.2	25	27	8.0
44	Solapur Commr.	0	0		39	77	97.4	10	9	-10.0
45	Navi Mumbai	0	0		140	263	87.9	17	17	0.0
46	Amravati Commr.	0	0		36	111	208.3	2	1	-50.0
*	**Total Commrs.**	**4**	**1**	**-75.0**	**1686**	**4229**	**150.8**	**244**	**210**	**-13.9**
*	**Total of M.S**	**15**	**13**	**-13.3**	**3793**	**8255**	**117.6**	**885**	**784**	**-11.4**

तक्ता क्र. ७ (चालू)

TABLE No.7 (Continued)

Sr. No.	Unit	Making Preparation And Assembly For Committing Dacoity			Robbery			Criminal Trespass/Burglary		
		2014	2015	% Variation	2014	2015	% Variation	2014	2015	% Variation
1	2	33	34	35	36	37	38	39	40	41
1	Akola	3	0	-100.0	108	87	-19.4	177	137	-22.6
2	Amravati Rural	1	1	0.0	42	55	31.0	236	227	-3.8
3	Buldhana	3	1	-66.7	44	52	18.2	155	185	19.4
4	Yavatmal	5	2	-60.0	146	119	-18.5	448	329	-26.6
5	Washim	1	0	-100.0	51	29	-43.1	115	114	-0.9
	Amravati Range	**13**	**4**	**-69.2**	**391**	**342**	**-12.5**	**1131**	**992**	**-12.3**
6	Aurangabad Rural	10	6	-40.0	41	74	80.5	116	237	104.3
7	Jalna	4	7	75.0	75	66	-12.0	206	236	14.6
8	Beed	2	6	200.0	94	110	17.0	227	239	5.3
9	Osmanabad	11	4	-63.6	40	46	15.0	206	172	-16.5
*	**Aurangabad Range**	**27**	**23**	**-14.8**	**250**	**296**	**18.4**	**755**	**884**	**17.1**
10	Nanded	2	2	0.0	62	83	33.9	243	249	2.5
11	Latur	3	2	-33.3	79	61	-22.8	231	190	-17.7
12	Parbhani	1	1	0.0	48	37	-22.9	204	228	11.8
13	Hingoli	2	1	-50.0	19	21	10.5	51	89	74.5
*	**Nanded Range**	**8**	**6**	**-25.0**	**208**	**202**	**-2.9**	**729**	**756**	**3.7**
14	Kolhapur	3	4	33.3	236	161	-31.8	363	318	-12.4
15	Pune Rural	29	18	-37.9	251	226	-10.0	807	647	-19.8
16	Sangli	6	3	-50.0	63	83	31.7	227	189	-16.7
17	Satara	5	5	0.0	234	209	-10.7	408	335	-17.9
18	Solapur Rural	9	13	44.4	68	65	-4.4	253	202	-20.2
*	**Kolhapur Range**	**52**	**43**	**-17.3**	**852**	**744**	**-12.7**	**2058**	**1691**	**-17.8**
19	Bhandara	0	0		25	21	-16.0	153	166	8.5
20	Chandrapur	2	1	-50.0	41	44	7.3	233	217	-6.9
21	Nagpur Rural	7	1	-85.7	65	45	-30.8	249	295	18.5
22	Wardha	2	4	100.0	50	46	-8.0	166	186	12.0
*	**Nagpur Range**	**11**	**6**	**-45.5**	**181**	**156**	**-13.8**	**801**	**864**	**7.9**
23	Gadchiroli	0	0		8	8	0.0	85	94	10.6
24	Gondia	0	1		20	21	5.0	130	101	-22.3
*	**Gadchiroli Range**	**0**	**1**		**28**	**29**	**3.6**	**215**	**195**	**-9.3**
25	Ahmednagar	21	20	-4.8	274	278	1.5	559	448	-19.9
26	Dhule	3	6	100.0	56	60	7.1	145	114	-21.4
27	Jalgaon	2	9	350.0	129	124	-3.9	248	232	-6.5
28	Nasik Rural	6	4	-33.3	103	115	11.7	319	291	-8.8
29	Nandurbar	1	0	-100.0	13	23	76.9	84	70	-16.7
*	**Nasik Range**	**33**	**39**	**18.2**	**575**	**600**	**4.3**	**1355**	**1155**	**-14.8**
30	Raigad	0	3		72	62	-13.9	224	259	15.6
31	Ratnagiri	0	1		38	42	10.5	143	123	-14.0
32	Sindhudurg	0	0		16	16	0.0	84	85	1.2
33	Thane Rural	6	2	-66.7	230	175	-23.9	349	336	-3.7
34	Palghar	7	8	14.3	211	232	10.0	631	634	0.5
*	Thane Range	13	14	7.7	567	527	-7.1	1431	1437	0.4
35	Mumbai Railway	0	1		573	531	-7.3	4	2	-50.0
36	Pune Railway	1	2	100.0	56	79	41.1	1	1	0.0
	Nagpur Railway	1	0	-100.0	80	78	-2.5	0	3	
*	Railway Range	2	3	50.0	709	688	-3.0	5	6	20.0
38	Nagpur Commr.	16	27	68.8	505	464	-8.1	1074	1079	0.5
39	Pune Commr.	33	28	-15.2	873	731	-16.3	1362	1194	-12.3
40	Thane Commr.	13	13	0.0	1315	1202	-8.6	1648	1619	-1.8
41	Mumbai Commr.	14	29	107.1	2094	1708	-18.4	3055	3010	-1.5
42	Nasik Commr.	29	9	-69.0	124	187	50.8	299	300	0.3
43	Aurangabad Commr.	15	23	53.3	204	210	2.9	267	349	30.7
44	Solapur Commr.	1	1	0.0	123	85	-30.9	231	204	-11.7
45	Navi Mumbai	13	6	-53.8	411	313	-23.8	549	609	10.9
46	Amravati Commr.	0	0		56	77	37.5	206	237	15.0
*	**Total Commrs.**	**134**	**136**	**1.5**	**5705**	**4977**	**-12.8**	**8691**	**8601**	**-1.0**
*	**Total of M.S**	**293**	**275**	**-6.1**	**9466**	**8561**	**-9.6**	**17171**	**16581**	**-3.4**

तक्ता क्र. ७ (चालू)

TABLE No.7 (Continued)

Sr. No.	Unit	Theft			Unlawful Assembly			Riots		
		2014	2015	% Variation	2014	2015	% Variation	2014	2015	% Variation
1	2	42	43	44	45	46	47	48	49	50
1	Akola	736	741	0.7	36	24	-33.3	97	70	-27.8
2	Amravati Rural	1221	1265	3.6	23	38	65.2	43	49	14.0
3	Buldhana	669	672	0.4	35	56	60.0	186	186	0.0
4	Yavatmal	1850	1593	-13.9	58	53	-8.6	197	146	-25.9
5	Washim	466	485	4.1	30	33	10.0	94	73	-22.3
	Amravati Range	**4942**	**4756**	**-3.8**	**182**	**204**	**12.1**	**617**	**524**	**-15.1**
6	Aurangabad Rural	917	1049	14.4	22	41	86.4	264	290	9.8
7	Jalna	582	576	-1.0	51	24	-52.9	120	192	60.0
8	Beed	678	863	27.3	38	55	44.7	266	321	20.7
9	Osmanabad	427	530	24.1	14	26	85.7	148	196	32.4
*	**Aurangabad Range**	**2604**	**3018**	**15.9**	**125**	**146**	**16.8**	**798**	**999**	**25.2**
10	Nanded	511	688	34.6	27	26	-3.7	192	200	4.2
11	Latur	549	626	14.0	38	34	-10.5	246	189	-23.2
12	Parbhani	488	527	8.0	22	23	4.5	157	132	-15.9
13	Hingoli	128	153	19.5	9	10	11.1	66	121	83.3
*	**Nanded Range**	**1676**	**1994**	**19.0**	**96**	**93**	**-3.1**	**661**	**642**	**-2.9**
14	Kolhapur	883	947	7.2	17	5	-70.6	273	383	40.3
15	Pune Rural	2592	2659	2.6	36	21	-41.7	609	628	3.1
16	Sangli	608	618	1.6	13	12	-7.7	218	263	20.6
17	Satara	1254	1234	-1.6	4	3	-25.0	340	355	4.4
18	Solapur Rural	1062	971	-8.6	14	5	-64.3	431	412	-4.4
*	**Kolhapur Range**	**6399**	**6429**	**0.5**	**84**	**46**	**-45.2**	**1871**	**2041**	**9.1**
19	Bhandara	476	378	-20.6	6	14	133.3	19	19	0.0
20	Chandrapur	751	607	-19.2	21	21	0.0	53	66	24.5
21	Nagpur Rural	1024	883	-13.8	27	11	-59.3	60	44	-26.7
22	Wardha	800	726	-9.3	14	19	35.7	41	41	0.0
*	**Nagpur Range**	**3051**	**2594**	**-15.0**	**68**	**65**	**-4.4**	**173**	**170**	**-1.7**
23	Gadchiroli	102	135	32.4	3	1	-66.7	9	24	166.7
24	Gondia	313	310	-1.0	20	8	-60.0	13	7	-46.2
*	**Gadchiroli Range**	**415**	**445**	**7.2**	**23**	**9**	**-60.9**	**22**	**31**	**40.9**
25	Ahmednagar	1519	1839	21.1	65	64	-1.5	457	554	21.2
26	Dhule	366	360	-1.6	10	4	-60.0	166	143	-13.9
27	Jalgaon	999	917	-8.2	18	6	-66.7	327	289	-11.6
28	Nasik Rural	888	927	4.4	40	25	-37.5	375	454	21.1
29	Nandurbar	157	207	31.8	4	2	-50.0	89	91	2.2
*	**Nasik Range**	**3929**	**4250**	**8.2**	**137**	**101**	**-26.3**	**1414**	**1531**	**8.3**
30	Raigad	429	585	36.4	58	43	-25.9	146	156	6.8
31	Ratnagiri	256	354	38.3	7	5	-28.6	66	90	36.4
32	Sindhudurg	132	120	-9.1	9	7	-22.2	24	33	37.5
33	Thane Rural	641	850	32.6	43	13	-69.8	168	225	33.9
34	Palghar	1071	1143	6.7	2	16	700.0	220	196	-10.9
*	Thane Range	2529	3052	20.7	119	84	-29.4	624	700	12.2
35	Mumbai Railway	2247	3285	46.2	3	4	33.3	6	4	-33.3
36	Pune Railway	543	604	11.2	0	0		3	2	-33.3
	Nagpur Railway	1531	1993	30.2	0	1		7	6	-14.3
*	Railway Range	4321	5882	36.1	3	5	66.7	16	12	-25.0
38	Nagpur Commr.	2962	3044	2.8	36	24	-33.3	147	142	-3.4
39	Pune Commr.	4867	5037	3.5	10	5	-50.0	259	259	0.0
40	Thane Commr.	3167	3526	11.3	12	7	-41.7	338	414	22.5
41	Mumbai Commr.	10101	10422	3.2	6	5	-16.7	409	396	-3.2
42	Nasik Commr.	1053	1164	10.5	2	4	100.0	64	77	20.3
43	Aurangabad Commr.	1419	2220	56.4	36	38	5.6	134	145	8.2
44	Solapur Commr.	586	785	34.0	6	2	-66.7	111	135	21.6
45	Navi Mumbai	1447	1324	-8.5	0	3		89	102	14.6
46	Amravati Commr.	815	1186	45.5	61	68	11.5	13	16	23.1
*	**Total Commrs.**	**26417**	**28708**	**8.7**	**169**	**156**	**-7.7**	**1564**	**1686**	**7.8**
*	**Total of M.S**	**56283**	**61128**	**8.6**	**1006**	**909**	**-9.6**	**7760**	**8336**	**7.4**

तक्ता क्र. ७ (चालू)

TABLE No.7 (Continued)

Sr. No.	Unit	Criminal Breach of Trust			Cheating			Forgery		
		2014	2015	% Variation	2014	2015	% Variation	2014	2015	% Variation
1	2	51	52	53	54	55	56	57	58	59
1	Akola	19	13	-31.6	108	93	-13.9	7	2	-71.4
2	Amravati Rural	11	14	27.3	93	87	-6.5	0	0	
3	Buldhana	19	14	-26.3	94	103	9.6	10	0	-100.0
4	Yavatmal	32	27	-15.6	151	147	-2.6	0	0	
5	Washim	6	12	100.0	55	63	14.5	0	0	
	Amravati Range	**87**	**80**	**-8.0**	**501**	**493**	**-1.6**	**17**	**2**	**-88.2**
6	Aurangabad Rural	14	7	-50.0	87	106	21.8	0	2	
7	Jalna	13	7	-46.2	116	118	1.7	0	0	
8	Beed	30	34	13.3	120	94	-21.7	2	2	0.0
9	Osmanabad	14	19	35.7	75	106	41.3	0	0	
*	**Aurangabad Range**	**71**	**67**	**-5.6**	**398**	**424**	**6.5**	**2**	**4**	**100.0**
10	Nanded	25	22	-12.0	11	150	1263.6	140	3	-97.9
11	Latur	14	18	28.6	125	105	-16.0	0	0	
12	Parbhani	10	6	-40.0	145	132	-9.0	0	0	
13	Hingoli	6	9	50.0	44	23	-47.7	0	0	
*	**Nanded Range**	**55**	**55**	**0.0**	**325**	**410**	**26.2**	**140**	**3**	**-97.9**
14	Kolhapur	69	56	-18.8	317	284	-10.4	0	0	
15	Pune Rural	79	47	-40.5	282	308	9.2	0	0	
16	Sangli	19	23	21.1	197	162	-17.8	9	2	-77.8
17	Satara	24	29	20.8	155	177	14.2	22	13	-40.9
18	Solapur Rural	18	14	-22.2	73	41	-43.8	45	71	57.8
*	**Kolhapur Range**	**209**	**169**	**-19.1**	**1024**	**972**	**-5.1**	**76**	**86**	**13.2**
19	Bhandara	11	9	-18.2	55	42	-23.6	0	1	
20	Chandrapur	41	33	-19.5	120	92	-23.3	0	0	
21	Nagpur Rural	28	21	-25.0	60	55	-8.3	0	0	
22	Wardha	30	24	-20.0	95	96	1.1	4	1	-75.0
*	**Nagpur Range**	**110**	**87**	**-20.9**	**330**	**285**	**-13.6**	**4**	**2**	**-50.0**
23	Gadchiroli	3	5	66.7	36	37	2.8	0	0	
24	Gondia	10	10	0.0	41	62	51.2	0	0	
*	**Gadchiroli Range**	**13**	**15**	**15.4**	**77**	**99**	**28.6**	**0**	**0**	
25	Ahmednagar	32	26	-18.8	165	167	1.2	0	0	
26	Dhule	44	44	0.0	86	60	-30.2	1	0	-100.0
27	Jalgaon	95	83	-12.6	191	154	-19.4	0	0	
28	Nasik Rural	23	30	30.4	186	179	-3.8	1	0	-100.0
29	Nandurbar	17	5	-70.6	34	19	-44.1	1	4	300.0
*	**Nasik Range**	**211**	**188**	**-10.9**	**662**	**579**	**-12.5**	**3**	**4**	**33.3**
30	Raigad	17	36	111.8	142	200	40.8	4	4	0.0
31	Ratnagiri	13	15	15.4	71	89	25.4	1	3	200.0
32	Sindhudurg	8	11	37.5	10	17	70.0	20	13	-35.0
33	Thane Rural	33	28	-15.2	301	259	-14.0	0	1	
34	Palghar	34	43	26.5	259	267	3.1	11	8	-27.3
*	Thane Range	105	133	26.7	783	832	6.3	36	29	-19.4
35	Mumbai Railway	6	6	0.0	46	78	69.6	0	0	
36	Pune Railway	1	1	0.0	2	6	200.0	0	0	
	Nagpur Railway	1	7	600.0	8	4	-50.0	0	0	
*	Railway Range	8	14	75.0	56	88	57.1	0	0	
38	Nagpur Commr.	52	73	40.4	394	313	-20.6	2	77	3750.0
39	Pune Commr.	70	108	54.3	770	784	1.8	8	3	-62.5
40	Thane Commr.	124	107	-13.7	953	931	-2.3	1	5	400.0
41	Mumbai Commr.	672	761	13.2	2594	2937	13.2	980	754	-23.1
42	Nasik Commr.	26	17	-34.6	130	161	23.8	1	1	0.0
43	Aurangabad Commr.	15	56	273.3	197	362	83.8	4	2	-50.0
44	Solapur Commr.	6	15	150.0	99	108	9.1	0	0	
45	Navi Mumbai	105	71	-32.4	576	577	0.2	2	5	150.0
46	Amravati Commr.	19	26	36.8	90	135	50.0	17	34	100.0
*	**Total Commrs.**	**1089**	**1234**	**13.3**	**5803**	**6308**	**8.7**	**1015**	**881**	**-13.2**
*	**Total of M.S**	**1958**	**2042**	**4.3**	**9959**	**10490**	**5.3**	**1293**	**1011**	**-21.8**

तक्ता क्र. ७ (चालू)

TABLE No.7 (Continued)

Sr. No.	Unit	Counterfeiting			Arson			Grievous Hurt		
		2014	2015	% Variation	2014	2015	% Variation	2014	2015	% Variation
1	2	60	61	62	63	64	65	66	67	68
1	Akola	3	3	0.0	34	31	-8.8	121	97	-19.8
2	Amravati Rural	1	0	-100.0	70	69	-1.4	269	141	-47.6
3	Buldhana	1	9	800.0	45	45	0.0	128	119	-7.0
4	Yavatmal	1	2	100.0	65	58	-10.8	237	162	-31.6
5	Washim	0	1		26	29	11.5	71	77	8.5
	Amravati Range	**6**	**15**	**150.0**	**240**	**232**	**-3.3**	**826**	**596**	**-27.8**
6	Aurangabad Rural	2	0	-100.0	30	34	13.3	77	91	18.2
7	Jalna	0	0		23	28	21.7	191	292	52.9
8	Beed	1	1	0.0	33	29	-12.1	121	127	5.0
9	Osmanabad	1	1	0.0	19	17	-10.5	65	91	40.0
*	**Aurangabad Range**	**4**	**2**	**-50.0**	**105**	**108**	**2.9**	**454**	**601**	**32.4**
10	Nanded	4	3	-25.0	41	51	24.4	171	162	-5.3
11	Latur	2	0	-100.0	54	54	0.0	42	41	-2.4
12	Parbhani	0	1		28	30	7.1	141	151	7.1
13	Hingoli	1	0	-100.0	12	29	141.7	54	68	25.9
*	**Nanded Range**	**7**	**4**	**-42.9**	**135**	**164**	**21.5**	**408**	**422**	**3.4**
14	Kolhapur	7	0	-100.0	22	17	-22.7	111	614	453.2
15	Pune Rural	4	5	25.0	37	54	45.9	270	294	8.9
16	Sangli	6	5	-16.7	22	18	-18.2	136	172	26.5
17	Satara	10	4	-60.0	26	28	7.7	142	154	8.5
18	Solapur Rural	3	4	33.3	31	70	125.8	237	171	-27.8
*	**Kolhapur Range**	**30**	**18**	**-40.0**	**138**	**187**	**35.5**	**896**	**1405**	**56.8**
19	Bhandara	0	1		20	31	55.0	42	51	21.4
20	Chandrapur	0	1		28	40	42.9	127	74	-41.7
21	Nagpur Rural	2	2	0.0	41	34	-17.1	146	131	-10.3
22	Wardha	0	4		19	16	-15.8	109	109	0.0
*	**Nagpur Range**	**2**	**8**	**300.0**	**108**	**121**	**12.0**	**424**	**365**	**-13.9**
23	Gadchiroli	0	1		17	17	0.0	24	35	45.8
24	Gondia	1	1	0.0	10	9	-10.0	59	50	-15.3
*	**Gadchiroli Range**	**1**	**2**	**100.0**	**27**	**26**	**-3.7**	**83**	**85**	**2.4**
25	Ahmednagar	3	1	-66.7	46	58	26.1	199	216	8.5
26	Dhule	2	1	-50.0	3	4	33.3	50	63	26.0
27	Jalgaon	7	3	-57.1	23	23	0.0	172	177	2.9
28	Nasik Rural	3	1	-66.7	25	26	4.0	406	456	12.3
29	Nandurbar	2	1	-50.0	6	6	0.0	34	41	20.6
*	**Nasik Range**	**17**	**7**	**-58.8**	**103**	**117**	**13.6**	**861**	**953**	**10.7**
30	Raigad	5	3	-40.0	22	15	-31.8	74	52	-29.7
31	Ratnagiri	2	1	-50.0	13	17	30.8	24	31	29.2
32	Sindhudurg	2	7	250.0	15	15	0.0	20	26	30.0
33	Thane Rural	3	0	-100.0	26	15	-42.3	107	94	-12.1
34	Palghar	14	5	-64.3	12	10	-16.7	213	263	23.5
*	Thane Range	26	16	-38.5	88	72	-18.2	438	466	6.4
35	Mumbai Railway	0	1		0	0		14	10	-28.6
36	Pune Railway	0	0		0	0		5	5	0.0
	Nagpur Railway	5	6	20.0	0	0		12	28	133.3
*	Railway Range	5	7	40.0	0	0		31	43	38.7
38	Nagpur Commr.	3	1	-66.7	33	34	3.0	313	233	-25.6
39	Pune Commr.	14	12	-14.3	38	57	50.0	470	649	38.1
40	Thane Commr.	20	13	-35.0	38	52	36.8	571	281	-50.8
41	Mumbai Commr.	39	50	28.2	54	20	-63.0	2006	1512	-24.6
42	Nasik Commr.	12	16	33.3	6	14	133.3	65	62	-4.6
43	Aurangabad Commr.	2	3	50.0	35	67	91.4	71	76	7.0
44	Solapur Commr.	2	3	50.0	6	7	16.7	32	22	-31.3
45	Navi Mumbai	9	10	11.1	10	11	10.0	109	109	0.0
46	Amravati Commr.	2	3	50.0	16	10	-37.5	69	65	-5.8
*	**Total Commrs.**	**103**	**111**	**7.8**	**236**	**272**	**15.3**	**3706**	**3009**	**-18.8**
*	**Total of M.S**	**201**	**190**	**-5.5**	**1180**	**1299**	**10.1**	**8127**	**7945**	**-2.2**

तक्ता क्र. ७ (चालू)

TABLE No.7 (Continued)

Sr. No.	Unit	Dowry Deaths			Assault On Women With Intent To Outrage Her Modesty			Insult To The Modesty Of Women		
		2014	2015	% Variation	2014	2015	% Variation	2014	2015	% Variation
1	**2**	**69**	**70**	**71**	**72**	**73**	**74**	**75**	**76**	**77**
1	Akola	5	4	-20.0	219	222	1.4	20	6	-70.0
2	Amravati Rural	8	3	-62.5	415	418	0.7	17	9	-47.1
3	Buldhana	22	14	-36.4	253	266	5.1	36	2	-94.4
4	Yavatmal	12	15	25.0	466	458	-1.7	504	81	-83.9
5	Washim	5	12	140.0	178	206	15.7	11	4	-63.6
	Amravati Range	**52**	**48**	**-7.7**	**1531**	**1570**	**2.5**	**588**	**102**	**-82.7**
6	Aurangabad Rural	7	18	157.1	177	242	36.7	3	5	66.7
7	Jalna	13	11	-15.4	185	191	3.2	8	3	-62.5
8	Beed	3	5	66.7	273	263	-3.7	1	3	200.0
9	Osmanabad	5	6	20.0	126	106	-15.9	5	1	-80.0
*	**Aurangabad Range**	**28**	**40**	**42.9**	**761**	**802**	**5.4**	**17**	**12**	**-29.4**
10	Nanded	6	12	100.0	147	165	12.2	3	4	33.3
11	Latur	4	8	100.0	174	155	-10.9	2	1	-50.0
12	Parbhani	5	11	120.0	140	153	9.3	2	1	-50.0
13	Hingoli	4	1	-75.0	80	91	13.8	0	3	
*	**Nanded Range**	**19**	**32**	**68.4**	**541**	**564**	**4.3**	**7**	**9**	**28.6**
14	Kolhapur	8	7	-12.5	176	219	24.4	7	2	-71.4
15	Pune Rural	13	5	-61.5	356	508	42.7	48	28	-41.7
16	Sangli	6	16	166.7	157	171	8.9	5	4	-20.0
17	Satara	4	2	-50.0	241	274	13.7	12	18	50.0
18	Solapur Rural	2	8	300.0	227	251	10.6	23	2	-91.3
*	**Kolhapur Range**	**33**	**38**	**15.2**	**1157**	**1423**	**23.0**	**95**	**54**	**-43.2**
19	Bhandara	3	0	-100.0	73	92	26.0	14	6	-57.1
20	Chandrapur	2	10	400.0	224	269	20.1	28	11	-60.7
21	Nagpur Rural	4	1	-75.0	187	167	-10.7	25	16	-36.0
22	Wardha	1	0	-100.0	192	243	26.6	8	4	-50.0
*	**Nagpur Range**	**10**	**11**	**10.0**	**676**	**771**	**14.1**	**75**	**37**	**-50.7**
23	Gadchiroli	0	1		32	40	25.0	2	6	200.0
24	Gondia	6	0	-100.0	113	118	4.4	3	4	33.3
*	**Gadchiroli Range**	**6**	**1**	**-83.3**	**145**	**158**	**9.0**	**5**	**10**	**100.0**
25	Ahmednagar	13	14	7.7	269	376	39.8	8	7	-12.5
26	Dhule	11	6	-45.5	98	69	-29.6	5	7	40.0
27	Jalgaon	1	1	0.0	347	288	-17.0	34	21	-38.2
28	Nasik Rural	17	14	-17.6	224	252	12.5	5	1	-80.0
29	Nandurbar	2	0	-100.0	36	41	13.9	4	4	0.0
*	**Nasik Range**	**44**	**35**	**-20.5**	**974**	**1026**	**5.3**	**56**	**40**	**-28.6**
30	Raigad	2	1	-50.0	99	108	9.1	15	12	-20.0
31	Ratnagiri	0	1		59	60	1.7	10	16	60.0
32	Sindhudurg	0	0		42	38	-9.5	7	2	-71.4
33	Thane Rural	3	2	-33.3	165	176	6.7	39	121	210.3
34	Palghar	1	2	100.0	183	226	23.5	22	12	-45.5
*	Thane Range	6	6	0.0	548	608	10.9	93	163	75.3
35	Mumbai Railway	0	0		55	89	61.8	4	0	-100.0
36	Pune Railway	1	0	-100.0	5	13	160.0	0	0	#DIV/0!
	Nagpur Railway	0	0		20	20	0.0	0	0	#DIV/0!
*	Railway Range	1	0	-100.0	80	122	52.5	4	0	-100.0
38	Nagpur Commr.	10	9	-10.0	279	392	40.5	25	24	-4.0
39	Pune Commr.	20	17	-15.0	454	705	55.3	98	48	-51.0
40	Thane Commr.	13	7	-46.2	559	564	0.9	73	32	-56.2
41	Mumbai Commr.	22	9	-59.1	1626	2008	23.5	363	372	2.5
42	Nasik Commr.	3	1	-66.7	101	106	5.0	3	6	100.0
43	Aurangabad Commr.	2	3	50.0	227	383	68.7	5	4	-20.0
44	Solapur Commr.	3	1	-66.7	52	81	55.8	7	4	-42.9
45	Navi Mumbai	6	9	50.0	158	202	27.8	49	25	-49.0
46	Amravati Commr.	1	1	0.0	132	228	72.7	12	7	-41.7
*	**Total Commrs.**	**80**	**57**	**-28.8**	**3588**	**4669**	**30.1**	**635**	**522**	**-17.8**
*	**Total of M.S**	**279**	**268**	**-3.9**	**10001**	**11713**	**17.1**	**1575**	**949**	**-39.7**

तक्ता क्र. ७ (चालू)

TABLE No.7 (Continued)

Sr. No.	Unit	Cruelty by Husband and Relatives			Importation of Girls From Foreign Country upto 21 years			Causing Death By Negligence		
		2014	2015	% Variation	2014	2015	% Variation	2014	2015	% Variation
1	2	78	79	80	81	82	83	84	85	86
1	Akola	136	144	5.9	0	0		141	133	-5.7
2	Amravati Rural	213	244	14.6	0	0		237	256	8.0
3	Buldhana	152	140	-7.9	0	0		279	259	-7.2
4	Yavatmal	301	262	-13.0	0	0		243	254	4.5
5	Washim	113	127	12.4	0	0		132	113	-14.4
	Amravati Range	**915**	**917**	**0.2**	**0**	**0**		**1032**	**1015**	**-1.6**
6	Aurangabad Rural	218	185	-15.1	0	0		298	261	-12.4
7	Jalna	289	263	-9.0	0	0		189	169	-10.6
8	Beed	316	362	14.6	0	0		304	265	-12.8
9	Osmanabad	117	109	-6.8	0	0		243	288	18.5
*	**Aurangabad Range**	**940**	**919**	**-2.2**	**0**	**0**		**1034**	**983**	**-4.9**
10	Nanded	180	213	18.3	0	0		268	237	-11.6
11	Latur	323	205	-36.5	0	0		256	249	-2.7
12	Parbhani	251	205	-18.3	0	0		120	119	-0.8
13	Hingoli	83	65	-21.7	0	0		91	111	22.0
*	**Nanded Range**	**837**	**688**	**-17.8**	**0**	**0**		**735**	**716**	**-2.6**
14	Kolhapur	150	128	-14.7	0	0		317	377	18.9
15	Pune Rural	219	211	-3.7	0	0		988	1033	4.6
16	Sangli	108	103	-4.6	0	0		309	352	13.9
17	Satara	188	155	-17.6	0	0		470	465	-1.1
18	Solapur Rural	122	113	-7.4	0	0		500	528	5.6
*	**Kolhapur Range**	**787**	**710**	**-9.8**	**0**	**0**		**2584**	**2755**	**6.6**
19	Bhandara	40	41	2.5	0	0		135	161	19.3
20	Chandrapur	203	201	-1.0	0	0		313	241	-23.0
21	Nagpur Rural	85	61	-28.2	0	0		437	416	-4.8
22	Wardha	98	67	-31.6	0	0		166	173	4.2
*	**Nagpur Range**	**426**	**370**	**-13.1**	**0**	**0**		**1051**	**991**	**-5.7**
23	Gadchiroli	16	13	-18.8	0	0		109	111	1.8
24	Gondia	46	38	-17.4	0	0		135	130	-3.7
*	**Gadchiroli Range**	**62**	**51**	**-17.7**	**0**	**0**		**244**	**241**	**-1.2**
25	Ahmednagar	264	243	-8.0	0	0		736	784	6.5
26	Dhule	207	200	-3.4	0	0		311	316	1.6
27	Jalgaon	374	276	-26.2	0	0		393	420	6.9
28	Nasik Rural	383	440	14.9	0	0		688	729	6.0
29	Nandurbar	47	38	-19.1	0	0		129	143	10.9
*	**Nasik Range**	**1275**	**1197**	**-6.1**	**0**	**0**		**2257**	**2392**	**6.0**
30	Raigad	54	50	-7.4	0	0		281	325	15.7
31	Ratnagiri	26	18	-30.8	0	0		153	160	4.6
32	Sindhudurg	4	10	150.0	0	0		80	81	1.3
33	Thane Rural	103	137	33.0	0	0		216	272	25.9
34	Palghar	73	51	-30.1	0	0		396	498	25.8
*	Thane Range	260	266	2.3	0	0		1126	1336	18.7
35	Mumbai Railway	0	0	0.0	0	0		2	3	50.0
36	Pune Railway	0	0		0	0		0	3	
	Nagpur Railway	0	0		0	0		3	1	-66.7
*	Railway Range	0	0		0	0		5	7	40.0
38	Nagpur Commr.	234	309	32.1	0	0		316	308	-2.5
39	Pune Commr.	391	379	-3.1	0	0		456	504	10.5
40	Thane Commr.	351	357	1.7	0	0		306	319	4.2
41	Mumbai Commr.	563	658	16.9	0	0		584	587	0.5
42	Nasik Commr.	200	203	1.5	1	0	-100.0	172	235	36.6
43	Aurangabad Commr.	164	341	107.9	0	0		183	159	-13.1
44	Solapur Commr.	52	61	17.3	0	0		91	77	-15.4
45	Navi Mumbai	131	89	-32.1	0	0		361	367	1.7
46	Amravati Commr.	108	152	40.7	0	0		82	66	-19.5
*	**Total Commrs.**	**2194**	**2549**	**16.2**	**1**	**0**	**-100.0**	**2551**	**2622**	**2.8**
*	**Total of M.S**	**7696**	**7667**	**-0.4**	**1**	**0**	**-100.0**	**12619**	**13058**	**3.5**

तक्ता क्र. ७ (चालू)

TABLE No.7 (Continued)

Sr. No.	Unit	Offences Related To State			Offences Promoting Enmity Between Different Groups			Extortion		
		2014	2015	% Variation	2014	2015	% Variation	2014	2015	% Variation
1	2	87	88	89	90	91	92	93	94	95
1	Akola	0	0		0	0		18	12	-33.3
2	Amravati Rural	0	0		0	0		2	8	300.0
3	Buldhana	0	0		0	1		3	3	0.0
4	Yavatmal	0	0		0	0		31	8	-74.2
5	Washim	0	0		0	0		4	10	150.0
	Amravati Range	**0**	**0**		**0**	**1**		**58**	**41**	**-29.3**
6	Aurangabad Rural	0	0		0	0		3	4	33.3
7	Jalna	0	0		0	0		12	5	-58.3
8	Beed	0	0		0	0		8	8	0.0
9	Osmanabad	0	0		0	0		6	39	550.0
*	**Aurangabad Range**	**0**	**0**		**0**	**0**		**29**	**56**	**93.1**
10	Nanded	0	0		0	1		14	12	-14.3
11	Latur	0	0		0	0		12	12	0.0
12	Parbhani	0	0		0	0		9	9	0.0
13	Hingoli	0	0		0	0		0	2	#DIV/0!
*	**Nanded Range**	**0**	**0**		**0**	**1**		**35**	**35**	**0.0**
14	Kolhapur	0	0		4	0	-100.0	13	6	-53.8
15	Pune Rural	0	0		1	0	-100.0	13	28	115.4
16	Sangli	0	0		0	1		29	26	-10.3
17	Satara	0	0		2	0	-100.0	9	15	66.7
18	Solapur Rural	0	0		0	0		10	11	10.0
*	**Kolhapur Range**	**0**	**0**		**7**	**1**	**-85.7**	**74**	**86**	**16.2**
19	Bhandara	0	0		0	0		2	0	-100.0
20	Chandrapur	0	0		0	0		6	11	83.3
21	Nagpur Rural	0	0		0	0		4	4	0.0
22	Wardha	0	0		0	0		1	3	200.0
*	**Nagpur Range**	**0**	**0**		**0**	**0**		**13**	**18**	**38.5**
23	Gadchiroli	0	1		0	0		2	2	0.0
24	Gondia	1	0	-100.0	1	0	-100.0	2	3	50.0
*	**Gadchiroli Range**	**1**	**1**	**0.0**	**1**	**0**	**-100.0**	**4**	**5**	**25.0**
25	Ahmednagar	0	0		0	1		9	13	44.4
26	Dhule	0	0		1	0	-100.0	9	13	44.4
27	Jalgaon	0	0		0	2		17	24	41.2
28	Nasik Rural	0	0		1	1	0.0	7	19	171.4
29	Nandurbar	0	0		1	3	200.0	2	4	100.0
*	**Nasik Range**	**0**	**0**		**3**	**7**	**133.3**	**44**	**73**	**65.9**
30	Raigad	0	0		11	16	45.5	6	8	33.3
31	Ratnagiri	0	0		0	0		4	7	75.0
32	Sindhudurg	0	0		0	0		0	0	
33	Thane Rural	0	0		0	0		13	21	61.5
34	Palghar	0	0		1	0	-100.0	5	18	260.0
*	Thane Range	0	0		12	16	33.3	28	54	92.9
35	Mumbai Railway	0	0		0	0		7	1	-85.7
36	Pune Railway	0	0		0	0		1	0	-100.0
	Nagpur Railway	0	0		0	0		0	0	#DIV/0!
*	Railway Range	0	0		0	0		8	1	-87.5
38	Nagpur Commr.	0	0		0	0		41	271	561.0
39	Pune Commr.	0	0		2	1	-50.0	62	73	17.7
40	Thane Commr.	0	0		0	1		56	112	100.0
41	Mumbai Commr.	0	0		2	3	50.0	247	271	9.7
42	Nasik Commr.	0	0		1	0	-100.0	15	15	0.0
43	Aurangabad Commr.	0	0		0	4		13	34	161.5
44	Solapur Commr.	0	0		0	0		8	17	112.5
45	Navi Mumbai	0	0		5	0	-100.0	38	39	2.6
46	Amravati Commr.	0	0		0	0		7	8	14.3
*	**Total Commrs.**	**0**	**0**		**10**	**9**	**-10.0**	**487**	**840**	**72.5**
*	**Total of M.S**	**1**	**1**	**0.0**	**33**	**35**	**6.1**	**780**	**1209**	**55.0**

तक्ता क्र. ७ (चालू)

TABLE No.7 (Continued)

Sr. No.	Unit	Disclosure Of Identity Of Victims			Incidence Of Rash Driving/Road Rage (Under Section 279 Ipc)			Human Trafficking		
		2014	2015	% Variation	2014	2015	% Variation	2014	2015	% Variation
1	2	96	97	98	99	100	101	102	103	104
1	Akola	0	0		503	615	22.3	0	0	
2	Amravati Rural	0	0		546	993	81.9	0	0	
3	Buldhana	0	0		396	425	7.3	0	0	
4	Yavatmal	0	0		668	651	-2.5	0	0	
5	Washim	0	0		182	193	6.0	0	0	
	Amravati Range	**0**	**0**		**2295**	**2877**	**25.4**	**0**	**0**	
6	Aurangabad Rural	0	0		402	1048	160.7	0	0	
7	Jalna	0	0		16	36	125.0	0	0	
8	Beed	0	0		856	992	15.9	0	0	
9	Osmanabad	0	0		408	545	33.6	0	0	
*	**Aurangabad Range**	**0**	**0**		**1682**	**2621**	**55.8**	**0**	**0**	
10	Nanded	0	0		574	1605	179.6	0	1	
11	Latur	0	0		393	362	-7.9	0	0	
12	Parbhani	0	0		328	202	-38.4	0	0	
13	Hingoli	0	0		186	313	68.3	0	0	
*	**Nanded Range**	**0**	**0**		**1481**	**2482**	**67.6**	**0**	**1**	
14	Kolhapur	0	0		776	798	2.8	0	0	
15	Pune Rural	0	0		1244	1909	53.5	0	0	
16	Sangli	0	0		430	424	-1.4	0	0	
17	Satara	0	0		605	570	-5.8	0	2	
18	Solapur Rural	0	0		891	612	-31.3	0	0	
*	**Kolhapur Range**	**0**	**0**		**3946**	**4313**	**9.3**	**0**	**2**	
19	Bhandara	0	0		309	300	-2.9	0	0	
20	Chandrapur	0	0		512	413	-19.3	0	0	
21	Nagpur Rural	0	0		730	809	10.8	0	0	
22	Wardha	0	0		51	734	1339.2	0	0	
*	**Nagpur Range**	**0**	**0**		**1602**	**2256**	**40.8**	**0**	**0**	
23	Gadchiroli	0	0		90	93	3.3	0	0	
24	Gondia	0	0		209	176	-15.8	0	0	
*	**Gadchiroli Range**	**0**	**0**		**299**	**269**	**-10.0**	**0**	**0**	
25	Ahmednagar	0	0		747	1187	58.9	0	0	
26	Dhule	0	0		378	386	2.1	0	0	
27	Jalgaon	0	0		597	502	-15.9	0	0	
28	Nasik Rural	0	0		1599	1957	22.4	0	0	
29	Nandurbar	0	0		233	201	-13.7	0	0	
*	**Nasik Range**	**0**	**0**		**3554**	**4233**	**19.1**	**0**	**0**	
30	Raigad	0	0		386	461	19.4	0	0	
31	Ratnagiri	0	0		342	716	109.4	0	0	
32	Sindhudurg	0	0		102	97	-4.9	0	0	
33	Thane Rural	0	0		173	178	2.9	0	0	
34	Palghar	0	0		369	200	-45.8	0	0	
*	Thane Range	0	0		1372	1652	20.4	0	0	
35	Mumbai Railway	0	0		0	0		1	2	100.0
36	Pune Railway	0	0		0	0		0	0	
	Nagpur Railway	0	0		0	0		0	0	
*	Railway Range	0	0		0	0		1	2	100.0
38	Nagpur Commr.	0	0		1096	1282	17.0	1	1	0.0
39	Pune Commr.	0	0		1299	1313	1.1	0	1	
40	Thane Commr.	0	0		774	903	16.7	22	0	-100.0
41	Mumbai Commr.	0	0		4129	3963	-4.0	84	0	-100.0
42	Nasik Commr.	0	0		489	567	16.0	0	0	
43	Aurangabad Commr.	0	0		771	1017	31.9	0	0	
44	Solapur Commr.	0	0		234	287	22.6	0	0	
45	Navi Mumbai	0	0		527	607	15.2	0	0	
46	Amravati Commr.	0	0		510	519	1.8	0	0	
*	**Total Commrs.**	**0**	**0**		**9829**	**10458**	**6.4**	**107**	**2**	**-98.1**
*	**Total of M.S**	**0**	**0**		**26060**	**31161**	**19.6**	**108**	**7**	**-93.5**

तक्ता क्र. ७ (पूर्ण)

TABLE No.7 (Concluded)

Sr. No.	Unit	Unnatural Offences			Other IPC Crimes			Total Cognizable Crimes Under IPC		
		2014	2015	% Variation	2014	2015	% Variation	2014	2015	% Variation
1	2	105	106	107	108	109	110	111	112	113
1	Akola	4	1	-75.0	1724	1780	3.2	4433	4423	-0.2
2	Amravati Rural	0	2		3196	3118	-2.4	6948	7380	6.2
3	Buldhana	1	3	200.0	1690	2179	28.9	4453	4959	11.4
4	Yavatmal	4	3	-25.0	4070	3310	-18.7	9951	8148	-18.1
5	Washim	3	1	-66.7	867	993	14.5	2579	2759	7.0
	Amravati Range	**12**	**10**	**-16.7**	**11547**	**11380**	**-1.4**	**28364**	**27669**	**-2.5**
6	Aurangabad Rural	0	1		1350	1194	-11.6	4237	5168	22.0
7	Jalna	0	0		1051	1159	10.3	3372	3646	8.1
8	Beed	2	2	0.0	1156	1303	12.7	4864	5480	12.7
9	Osmanabad	4	1	-75.0	702	828	17.9	2825	3316	17.4
*	**Aurangabad Range**	**6**	**4**	**-33.3**	**4259**	**4484**	**5.3**	**15298**	**17610**	**15.1**
10	Nanded	0	1		1683	1427	-15.2	4600	5654	22.9
11	Latur	0	0		1215	2018	66.1	4070	4616	13.4
12	Parbhani	1	1	0.0	1249	1833	46.8	3606	4083	13.2
13	Hingoli	2	1	-50.0	812	693	-14.7	1761	1941	10.2
*	**Nanded Range**	**3**	**3**	**0.0**	**4959**	**5971**	**20.4**	**14037**	**16294**	**16.1**
14	Kolhapur	0	0		883	1350	52.9	4942	6109	23.6
15	Pune Rural	2	4	100.0	1773	2276	28.4	10334	11803	14.2
16	Sangli	0	2		2359	3347	41.9	5171	6317	22.2
17	Satara	4	1	-75.0	1557	2109	35.5	6062	6640	9.5
18	Solapur Rural	2	3	50.0	1829	3281	79.4	6235	7284	16.8
*	**Kolhapur Range**	**8**	**10**	**25.0**	**8401**	**12363**	**47.2**	**32744**	**38153**	**16.5**
19	Bhandara	0	2		528	528	0.0	2003	2016	0.6
20	Chandrapur	0	5		1474	1700	15.3	4441	4414	-0.6
21	Nagpur Rural	2	1	-50.0	1148	1196	4.2	4564	4467	-2.1
22	Wardha	0	1		1620	1335	-17.6	3687	4059	10.1
*	**Nagpur Range**	**2**	**9**	**350.0**	**4770**	**4759**	**-0.2**	**14695**	**14956**	**1.8**
23	Gadchiroli	0	0		191	703	268.1	875	1499	71.3
24	Gondia	0	0		561	640	14.1	1836	1882	2.5
*	**Gadchiroli Range**	**0**	**0**		**752**	**1343**	**78.6**	**2711**	**3381**	**24.7**
25	Ahmednagar	0	0		1113	1117	0.4	6957	8018	15.3
26	Dhule	0	0		671	721	7.5	2818	2738	-2.8
27	Jalgaon	3	3	0.0	2202	2698	22.5	6531	6609	1.2
28	Nasik Rural	2	2	0.0	1140	808	-29.1	6832	7232	5.9
29	Nandurbar	0	0		417	378	-9.4	1425	1388	-2.6
*	**Nasik Range**	**5**	**5**	**0.0**	**5543**	**5722**	**3.2**	**24563**	**25985**	**5.8**
30	Raigad	0	3		411	478	16.3	2601	3127	20.2
31	Ratnagiri	0	2		255	299	17.3	1568	2188	39.5
32	Sindhudurg	0	0		160	192	20.0	789	838	6.2
33	Thane Rural	3	0	-100.0	761	745	-2.1	3641	4007	10.1
34	Palghar	1	1	0.0	594	812	36.7	4692	5343	13.9
*	Thane Range	4	6	50.0	2181	2526	15.8	13291	15503	16.6
35	Mumbai Railway	0	0		136	163	19.9	3141	4234	34.8
36	Pune Railway	0	0		35	36	2.9	676	780	15.4
	Nagpur Railway	0	0		86	78	-9.3	1768	2263	28.0
*	Railway Range	0	0		257	277	7.8	5585	7277	30.3
38	Nagpur Commr.	5	5	0.0	2339	2390	2.2	10359	11018	6.4
39	Pune Commr.	10	17	70.0	2065	2077	0.6	14468	15349	6.1
40	Thane Commr.	14	17	21.4	1931	3338	72.9	13227	15204	14.9
41	Mumbai Commr.	24	59	145.8	9140	10621	16.2	40361	42940	6.4
42	Nasik Commr.	1	2	100.0	930	526	-43.4	3883	3963	2.1
43	Aurangabad Commr.	2	1	-50.0	851	1194	40.3	4821	7051	46.3
44	Solapur Commr.	1	1	0.0	400	506	26.5	2186	2583	18.2
45	Navi Mumbai	1	9	800.0	986	1042	5.7	5903	5990	1.5
46	Amravati Commr.	4	1	-75.0	975	1435	47.2	3338	4488	34.5
*	**Total Commrs.**	**62**	**112**	**80.6**	**19617**	**23129**	**17.9**	**98546**	**108586**	**10.2**
*	**Total of M.S**	**102**	**159**	**55.9**	**62286**	**71954**	**15.5**	**249834**	**275414**	**10.2**

तक्ता क्र.८

आयुक्तांलयामधील भा.दं.वि. चे गुन्हे व गुन्हे प्रमाण (२०१०-२०१५)

Table No. 8

Incidences & Rate Of Total Cognizable Offence In Commissionerates Under Indian Penal Code (IPC) (2010-2015)

Sr. No	Year	Estimated Mid -Year Population (in Lakh)	Incidences	Rate (per 1 lakh Population)
1	2010	375.47	84217	224.30
2	2011	310.46	81832	263.58
3	2012	318.46	79148	248.53
4	2013	332.56	88822	267.09
5	2014	331.42	98546	297.34
6	2015	335.29	108586	323.86
7	Percentage change during 2015 over 2010	-10.70	28.94	44.39

तक्ता क्र. ९

Table No. 9

COMMISSIONERATE-WISE INCIDENCES OF COGNIZABLE CRIMES UNDER INDIAN PENAL CODE DURING 2015

Sr. No.	UNIT	Murder	Attempt To Commit Murder	C.H. Not Amounting To Murder	Attempt to commit C.H. Not Amounting To Murder	Rape	Attempt To Commit Rape	Kidnaping & Abduction	Dacoity	Making Preparation And Assembly For Committing Dacoity
1	**2**	**3**	**4**	**5**	**6**	**7**	**8**	**9**	**10**	**11**
1	Nagpur Commr.	79	84	3	1	166	1	355	21	27
2	Pune Commr.	125	180	10	0	266	0	707	40	28
3	Thane Commr.	106	181	7	0	251	0	793	37	13
4	Mumbai Commr.	169	231	1	0	712	0	1583	48	29
5	Nasik Commr.	40	43	0	0	30	0	166	10	9
6	Aurangabad Commr.	35	82	3	0	65	0	174	27	23
7	Solapur Commr.	15	31	0	0	49	0	77	9	1
8	Navi Mumbai	48	27	2	0	104	0	263	17	6
9	Amravati Commr.	24	37	2	0	39	0	111	1	0
*	**Total Commrs.**	**641**	**896**	**28**	**1**	**1682**	**1**	**4229**	**210**	**136**

तक्ता क्र. ९ (चालू)

Table No. 9 (Continued)

Sr. No.	UNIT	Robbery	Criminal Trespass/Burglary	Theft	Unlawful Assembly	Riots	Criminal Breach of Trust	Cheating	Forgery	Counter- feiting
1	**2**	**12**	**13**	**14**	**15**	**16**	**17**	**18**	**19**	**20**
1	Nagpur Commr.	464	1079	3044	24	142	73	313	77	1
2	Pune Commr.	731	1194	5037	5	259	108	784	3	12
3	Thane Commr.	1202	1619	3526	7	414	107	931	5	13
4	Mumbai Commr.	1708	3010	10422	5	396	761	2937	754	50
5	Nasik Commr.	187	300	1164	4	77	17	161	1	16
6	Aurangabad Commr.	210	349	2220	38	145	56	362	2	3
7	Solapur Commr.	85	204	785	2	135	15	108	0	3
8	Navi Mumbai	313	609	1324	3	102	71	577	5	10
9	Amravati Commr.	77	237	1186	68	16	26	135	34	3
*	**Total Commrs.**	**4977**	**8601**	**28708**	**156**	**1686**	**1234**	**6308**	**881**	**111**

तक्ता क्र. ९ (चालू)

Table No. 9 (Continued)

Sr. No.	UNIT	Arson	Grievous Hurt	Dowry Deaths	Assault On Women With Intent To Outrage Her Modesty	Insult To The Modesty Of Women	Cruelty By Husband Or His Relatives	Importation Of Girls From Foreign Country	Causing Death By Negligence	Offences Against State
1	**2**	**21**	**22**	**23**	**24**	**25**	**26**	**27**	**28**	**29**
1	Nagpur Commr.	34	233	9	392	24	309	0	308	0
2	Pune Commr.	57	649	17	705	66	379	0	504	0
3	Thane Commr.	52	281	7	564	41	357	0	319	0
4	Mumbai Commr.	20	1512	9	2008	412	658	0	587	0
5	Nasik Commr.	14	62	1	106	7	203	0	235	0
6	Aurangabad Commr	67	76	3	383	4	314	0	159	0
7	Solapur Commr.	7	22	1	81	4	61	0	77	0
8	Navi Mumbai	11	109	9	202	25	89	0	367	0
9	Amravati Commr.	10	65	1	228	7	152	0	66	0
*	**Total Commrs.**	**272**	**3009**	**57**	**4669**	**590**	**2522**	**0**	**2622**	**0**

तक्ता क्र. ९ (पुर्ण)

Table No. 9 (Concluded)

Sr. No.	UNIT	Offences Promoting Enmity Between Different Groups	Extortion	Disclosure Of Identity Of Victims	Incidence Of Rash Driving/ Road Rage	Human Trafficking	Unnatural Offences	Other IPC Crimes	Total Cognizable IPC Crimes
1	**2**	**30**	**31**	**32**	**33**	**34**	**35**	**36**	**37**
1	Nagpur Commr.	0	78	0	1282	1	5	2390	11018
2	Pune Commr.	0	73	0	1313	1	17	2077	15349
3	Thane Commr.	0	112	0	903	0	17	3338	15204
4	Mumbai Commr.	0	271	0	3963	0	59	10621	42940
5	Nasik Commr.	0	15	0	567	0	2	526	3963
6	Aurangabad Commr.	0	34	0	1017	0	1	1194	7051
7	Solapur Commr.	0	17	0	287	0	1	506	2583
8	Navi Mumbai	0	39	0	607	0	9	1042	5990
9	Amravati Commr.	0	8	0	519	0	1	1435	4488
*	**Total Commrs.**	**0**	**647**	**0**	**10458**	**2**	**112**	**23129**	**108586**

तक्ता क्र. १०

विशेष व स्थानिक कायदयांचे विविध शीर्ष-निहाय गुन्हे व गुन्हे प्रमाण आणि सन २०१५मध्ये शेकडा प्रमाणातील बदल

TABLE NO. 10

INCIDENCES & RATE OF COGNIZABLE CRIMES UNDER SPL. & LOCAL LAWS UNDER DIFFERENT CRIME HEADS AND PERCENTAGE CHANGE DURING 2015

Sr. No.	Crime Head	Years					
		2005	2010	2011	2012	2013	2014
1	2	3	4	5	6	7	8
1	Arms Act, 1959	1244	1068	1014	1166	1000	1412
2	Narcotic Drugs & Psychotropic Substances Act, 1985	1365	1081	1368	1903	2714	14622
3	Gambling Act, 1867	17647	11986	13296	14704	15743	16637
4	Excise Act, 1944	1	0	0	0	0	0
5	Prohibition Act	93959	67932	71171	72442	61660	62772
6	Explosives and Explosive Substances Act	65	51	57	60	57	33
7	Immoral Traffic (Prevention) Act, 1956	222	306	390	366	289	233
8	Indian Railways Act, 1989	23	35	33	23	30	33
9	Registration of Foreigners Act, 1939	70	16	31	12	16	7
10	Protection of Civil Rights Act, 1955	32	25	10	6	29	5
	PCR Act for crimes committed against SCs	32	25	10	5	21	5
	PCR Act for crimes committed against STs	0	0	0	1	8	0
	PCR Act for crimes committed against Others						0
11	Passport Act, 1967	58	69	65	127	163	69
12	Essential Commodities Act, 1955	2386	1897	2796	1447	1056	1005
13	Antiquities & Art Treasures Act, 1972	1	0	2	3	2	1
14	Dowry Prohibition Act, 1961	23	40	44	33	43	39
15	Indecent Representation of Women (Prohibition) Act, 1986	8	0	1	2	0	0
16	Copyright Act, 1957	1033	662	563	355	366	296
17	Protection Of Child from Sexual Offences	0	0	0	0	0	0
18	SC/ST (Prevention of Atrocities) Act, 1989)	310	374	365	320	322	384
	POA Act for crimes committed against SCs	258	319	304	267	277	329
	POA Act for crimes committed against STs	52	55	61	53	45	55
19	Forest Act, 1927	65	37	16	30	19	25
20	Prohibition of Child Marriage Act, 2006	22	4	19	6	16	14
21	Protection of Women from Domestic Violence Act, 2005	0					4
22	Information Technology Act, 2000	0					511
23	Official Secrets Act, 1923	0					1
24	Electricity Act, 2003	0					1140
25	Wildlife Protection Act, 1972	0					56
26	Bonded Labour System (Abolition) Act, 1976	0					4

तक्ता क्र. १०

विशेष व स्थानिक कायदयांचे विविध शीर्ष-निहाय गुन्हे व गुन्हे प्रमाण आणि सन २०१४ मध्ये शेकडा प्रमाणातील बदल

TABLE NO. 10

INCIDENCES & RATE OF COGNIZABLE CRIMES UNDER SPECIAL AND LOCAL LAWS UNDER DIFFERENT CRIME HEADS AND PERCENTAGE CHANGE DURING 2015

Sr.No.	Crime Head	Years					
		2005	2010	2011	2012	2013	2014
1	2	3	4	5	6	7	8
27	Environmental (Protection) Act, 1986						41
28	Air (Prevention & Control of Pollution) Act, 1981						13
29	Water (Prevention & Control of Pollution) Act, 1974(as amended in 1988)						1
30	National Security Act, 1980						0
31	Unlawful Activities (Prevention) Act, 1967						1
32	Young Persons (Harmful Publications) Act, 1956						0
33	Railway Property (Unlawful Possession) Act, 1966						0
34	Prevention of Damage to Public Property Act, 1984						232
35	Transplantation of Human Organs Act, 1994						0
36	Trade Marks Act, 1999						3
37	Prevention of Insults to National Honour Act, 1971						18
38	State Emblem (Prohibition of Improper Use) Act, 2005						0
39	Lotteries (Regulation) Act, 1998						53
40	Citizenship Act, 1955						0
41	Foreigners Act, 1946						17
42	Place of Worship (Special Provisions) Act, 1991						0
43	Religious Institution (Prevention of Misuse) Act, 1988						1
44	Representation of People Act, 1951						61
45	Emigration Act, 1983						0
46	Juvenile Justice (Care and Protection of Children) Act, 2000						40
47	Infant Substitutes Regulation Act, 2003						0
48	Anti-Hijacking Act, 1982						0
49	Atomic Energy Act, 1962						1
50	Weapons of Mass Destruction (Proh. of Unlawful Activities) Act, 2005						0
51	Suppression of Unlawful Acts against Safety of Civil Aviation Act, 1982						0
52	Safety of Maritime Navigation Act, 2002						0
53	Manual Scavengers and Construction of Dry Latrines (P) Act, 1993						0
54	Pre-Natal Diagnostic Techniques (Reg and Prev of Misuse) Act, 1994						1
55	The Maritime Zones of India (Reg of Fishing by Foreign Vessels) Act, 1981						0
56	Other SLL crimes	23759	42357	38981	37975	40599	35195
57	**Total Cognizable SLL crimes**	**142293**	**127940**	**130222**	**130980**	**124124**	**134981**

तक्ता क्र. १०

विशेष व स्थानिक कायदयांचे विविध शीर्ष-निहाय गुन्हे व गुन्हे प्रमाण आणि सन २०१५ मध्ये शेकडा प्रमाणातील बदल

TABLE NO. 10

Incidences & Rate Of Cognizable Crimes Under Special And Local Laws Under Different Crime Heads And Percentage Change During 2015

Sr.No.	Crime Head	Quinquennial Average 2010 to 2014)	2015	Percentage change in 2014 Increase /Decrease over		
				2005	Q.A	2014
1	2	9	10	11	12	13
1	Arms Act, 1959	1132	1253	0.7	10.7	-11.3
2	Narcotic Drugs & Psychotropic Substances Act, 1985	4338	18979	1290.4	337.5	29.8
3	Gambling Act, 1867	14473	20171	14.3	39.4	21.2
4	Excise Act, 1944	0	0	-100.0		
5	Prohibition Act	67195	65128	-30.7	-3.1	3.8
6	Explosives and Explosive Substances Act	52	88	35.4	69.2	166.7
7	Immoral Traffic (Prevention) Act, 1956	317	400	80.2	26.3	71.7
8	Indian Railways Act, 1989	31	30	30.4	-2.6	-9.1
9	Registration of Foreigners Act, 1939	16	1	-98.6	-93.9	-85.7
10	Protection of Civil Rights Act, 1955	15	20	-37.5	33.3	300.0
	PCR Act for crimes committed against SCs	13	9	-71.9	-31.8	80.0
	PCR Act for crimes committed against STs	2	1		-44.4	
	PCR Act for crimes committed against Others	0	10			
11	Passport Act, 1967	99	56	-3.4	-43.2	-18.8
12	Essential Commodities Act, 1955	1640	722	-69.7	-56.0	-28.2
13	Antiquities & Art Treasures Act, 1972	2	1	0.0	-37.5	0.0
14	Dowry Prohibition Act, 1961	40	42	82.6	5.5	7.7
15	Indecent Representation of Women (Prohibition) Act, 1986	1	0	-100.0	-100.0	
16	Copyright Act, 1957	448	371	-64.1	-17.3	25.3
17	Protection of Child from sexual offence,2012	0	26			
18	SC/ST (Prevention of Atrocities) Act, 1989)	353	340	9.7	-3.7	-11.5
	POA Act for crimes committed against SCs	299	290	12.4	-3.1	-11.9
	POA Act for crimes committed against STs	54	50	-3.8	-7.1	-9.1
19	Forest Act, 1927	18	18	-72.3	0.0	-28.0
20	Prohibition of Child Marriage Act, 2006	11	24	9.1	118.2	71.4
21	Protection of Women from Domestic Violence Act, 2005	1	8		900.0	100.0
22	Information Technology Act, 2000	102	348		240.5	-31.9
23	Official Secrets Act, 1923	0	0		-100.0	-100.0
24	Electricity Act, 2003	228	996		336.8	-12.6
25	Wildlife Protection Act, 1972	11	20		78.6	-64.3
26	Bonded Labour System (Abolition) Act, 1976	1	5		525.0	25.0
	Total		**109047**			

तक्ता क्र. १०

विशेष व स्थानिक कायदयांचे विविध शीर्ष-निहाय गुन्हे व गुन्हे प्रमाण आणि सन २०१५ मध्ये शेकडा प्रमाणातील बदल

TABLE NO. 10

Incidences & Rate Of Cognizable Crimes Under Special And Local Laws Under Different Crime Heads And Percentage Change During 2015

Sr.No.	Crime Head	Quinquennial Average 2010 to 2014)	2015	Percentage change in 2014 Increase /Decrease over		
				2005	Q.A	2014
1	2	9	10	11	12	13
27	Environmental (Protection) Act, 1986	8	46		461.0	12.2
28	Air (Prevention & Control of Pollution) Act, 1981	3	42		1515.4	223.1
29	Water (Prevention & Control of Pollution) Act, 1974(as amended in 1988)	0	1		400.0	0.0
30	National Security Act, 1980	0	1			
31	Unlawful Activities (Prevention) Act, 1967	0	1		400.0	0.0
32	Young Persons (Harmful Publications) Act, 1956	0	0		-100.0	-100.0
33	Railway Property (Unlawful Possession) Act, 1966	0	0			
34	Prevention of Damage to Public Property Act, 1984	0	159			
35	Transplantation of Human Organs Act, 1994	46	0		-100.0	-100.0
36	Trade Marks Act, 1999	1	3		400.0	0.0
37	Prevention of Insults to National Honour Act, 1971	4	11		205.6	-38.9
38	State Emblem (Prohibition of Improper Use) Act, 2005	0	1			
39	Lotteries (Regulation) Act, 1998	11	17		60.4	-67.9
40	Citizenship Act, 1955	0	0			
41	Foreigners Act, 1946	3	18		429.4	5.9
42	Place of Worship (Special Provisions) Act, 1991	0	0			
43	Religious Institution (Prevention of Misuse) Act, 1988	0	0		-100.0	-100.0
44	Representation of People Act, 1951	12	20		63.9	-67.2
45	Emigration Act, 1983	0	0			
46	Juvenile Justice (Care and Protection of Children) Act, 2000	8	251		3037.5	527.5
47	Infant Substitutes Regulation Act, 2003	0	0			
48	Anti-Hijacking Act, 1982	0	0			
49	Atomic Energy Act, 1962	0	0		-100.0	-100.0
50	Weapons of Mass Destruction (Proh. of Unlawful Activities) Act, 2005	0	0			
51	Suppression of Unlawful Acts against Safety of Civil Aviation Act, 1982	0	0			
52	Safety of Maritime Navigation Act, 2002	0	0			
53	Manual Scavengers and Construction of Dry Latrines (P) Act, 1993	0	0			
54	Pre-Natal Diagnostic Techniques (Reg and Prev of Misuse) Act, 1994	0	0		-100.0	-100.0
55	The Maritime Zones of India (Reg of Fishing by Foreign Vessels) Act, 1981	0	0			
56	Other SLL crimes	7039	38148	60.6	442.0	8.4
	Total Cognizable SLL crimes	**97958**	**147766**	**3.7**	**50.8**	**9.2**

तक्ता क्र. ११

विशेष व स्थानिक कायद्यांतर्गत विविध शीर्षांचा शेकडा प्रमाणातील वाटा (२०१० - २०१५)

Table No. -11

Percentage Distribution of Cognizable Crimes (SLL) under Different Crime Heads (Crime Head-wise) During 2010-2015

Sr. No.	CrimeHead	2010	2011	2012	2013	2014	2015
1	2	3	4	5	6	7	8
1	Arms Act, 1959	1.24	1.11	1.25	1.19	1.04	0.80
2	Narcotic Drugs & Psychotropic Substances Act, 1985	1.26	1.49	2.04	3.24	10.81	12.08
3	Gambling Act, 1867	13.96	14.52	15.76	18.79	12.30	13.60
4	Excise Act, 1944	0.00	0.00	0.00	0.00	0.00	0.00
5	Prohibition Act	79.12	77.74	77.67	73.58	46.39	44.00
6	Explosives and Explosive Substances Act	0.06	0.06	0.06	0.07	0.02	0.00
7	Immoral Traffic (Prevention) Act, 1956	0.36	0.43	0.39	0.34	0.17	0.27
8	Indian Railways Act, 1989	0.04	0.04	0.02	0.04	0.02	0.08
9	Registration of Foreigners Act, 1939	0.02	0.03	0.01	0.02	0.01	0.00
10	Protection of Civil Rights Act, 1955	0.03	0.01	0.01	0.03	0.00	0.00
10.1	PCR Act for crimes committed against SCs	0.03	0.01	0.01	0.03	0.00	0.00
10.2	PCR Act for crimes committed against STs	0.00	0.00	0.00	0.01	0.00	0.00
10.3	PCR Act for crimes committed against Others	0.00	0.00	0.00	0.00	0.00	0.00
11	Passport Act, 1967	0.08	0.07	0.14	0.19	0.05	0.00
12	Essential Commodities Act, 1955	2.21	3.05	1.55	1.26	0.74	0.00
13	Antiquities & Art Treasures Act, 1972	0.00	0.00	0.00	0.00	0.00	0.00
14	Dowry Prohibition Act, 1961	0.05	0.05	0.04	0.05	0.03	0.00
15	Indecent Representation of Women (Prohibition) Act, 1986	0.00	0.00	0.00	0.00	0.00	0.00
16	Copyright Act, 1957	0.77	0.61	0.38	0.44	0.22	0.40
17	Protection of Child from Sexual Ofences Acr, 2012	0.00	0.00	0.00	0.00	0.00	0.00
18	SC/ST (Prevention of Atrocities) Act, 1989)	0.44	0.40	0.34	0.38	0.28	0.00
18.1	POA Act for crimes committed against SCs	0.37	0.33	0.29	0.33	0.24	0.00
18.2	POA Act for crimes committed against STs	0.06	0.07	0.06	0.05	0.04	0.00
19	Forest Act, 1927	0.00	0.02	0.03	0.02	0.02	0.00
20	Prohibition of Child Marriage Act, 2006	0.00	0.02	0.01	0.02	0.01	0.00
21	Protection of Women from Domestic Violence Act, 2005	0.00	0.00	0.00	0.00	0.00	0.00
22	Information Technology Act, 2000	0.00	0.00	0.00	0.00	0.38	0.00
23	Official Secrets Act, 1923	0.00	0.00	0.00	0.00	0.00	0.00
24	Electricity Act, 2003	0.00	0.00	0.00	0.00	0.84	0.00
25	Wildlife Protection Act, 1972	0.00	0.00	0.00	0.00	0.04	0.00
26	Bonded Labour System (Abolition) Act, 1976	0.00	0.00	0.00	0.00	0.00	0.60
27	Environmental (Protection) Act, 1986	0.00	0.00	0.00	0.00	0.03	0.00
28	Air (Prevention & Control of Pollution) Act, 1981	0.00	0.00	0.00	0.00	0.01	0.00
29	Water (Prevention & Control of Pollution) Act, 1974(as amended in 1988)	0.00	0.00	0.00	0.00	0.00	0.00
30	National Security Act, 1980	0.00	0.00	0.00	0.00	0.00	0.00
31	Unlawful Activities (Prevention) Act, 1967	0.00	0.00	0.00	0.00	0.00	0.00
32	Young Persons (Harmful Publications) Act, 1956	0.00	0.00	0.00	0.00	0.00	0.00
33	Railway Property (Unlawful Possession) Act, 1966	0.00	0.00	0.00	0.00	0.00	0.00
34	Prevention of Damage to Public Property Act, 1984	0.00	0.00	0.00	0.00	0.00	0.00
35	Transplantation of Human Organs Act, 1994	0.00	0.00	0.00	0.00	0.17	0.00
36	Trade Marks Act, 1999	0.00	0.00	0.00	0.00	0.00	0.00
37	Prevention of Insults to National Honour Act, 1971	0.00	0.00	0.00	0.00	0.01	0.00
38	State Emblem (Prohibition of Improper Use) Act, 2005	0.00	0.00	0.00	0.00	0.00	0.00
39	Lotteries (Regulation) Act, 1998	0.00	0.00	0.00	0.00	0.04	0.00
40	Citizenship Act, 1955	0.00	0.00	0.00	0.00	0.00	0.00
41	Foreigners Act, 1946	0.00	0.00	0.00	0.00	0.01	0.00
42	Place of Worship (Special Provisions) Act, 1991	0.00	0.00	0.00	0.00	0.00	0.00
43	Religious Institution (Prevention of Misuse) Act, 1988	0.00	0.00	0.00	0.00	0.00	0.00
44	Representation of People Act, 1951	0.00	0.00	0.00	0.00	0.05	0.00
45	Emigration Act, 1983	0.00	0.00	0.00	0.00	0.00	0.00
46	Juvenile Justice (Care and Protection of Children) Act, 2000	0.00	0.00	0.00	0.00	0.03	0.00
47	Infant Substitutes Regulation Act, 2003	0.00	0.00	0.00	0.00	0.00	0.00
48	Anti-Hijacking Act, 1982	0.00	0.00	0.00	0.00	0.00	0.00
49	Atomic Energy Act, 1962	0.00	0.00	0.00	0.00	0.00	0.00
50	Weapons of Mass Destruction (Proh. of Unlawful Activities) Act, 2005	0.00	0.00	0.00	0.00	0.00	0.00
51	Suppression of Unlawful Acts against Safety of Civil Aviation Act, 1982	0.00	0.00	0.00	0.00	0.00	0.00
52	Safety of Maritime Navigation Act, 2002	0.00	0.00	0.00	0.00	0.00	0.00
53	Manual Scavengers and Construction of Dry Latrines (P) Act, 1993	0.00	0.00	0.00	0.00	0.00	0.00
54	Pre-Natal Diagnostic Techniques (Reg and Prev of Misuse) Act, 1994	0.00	0.00	0.00	0.00	0.00	0.00
55	The Maritime Zones of India (Reg of Fishing by Foreign Vessels) Act, 1981	0.00	0.00	0.00	0.00	0.00	0.00
56	Other SLL crimes	0.00	0.00	0.00	0.00	26.01	23.80
57	**Total Cognizable SLL crimes**	**100.00**	**100.00**	**100.00**	**100.00**	**100.00**	**100.00**

Table 12
Incidence (I) & Rate (R) of Cognizable Crimes(SLL) under Different Crime Heads During 2015

Sr.No.	Unit	Arms Act			NDPS Act			Gambling Act		
		I	V	R	I	V	R	I	V	R
1	2	3	4	5	6	7	8	9	10	11
1	Akola	41	0	2.14	6	0	0.31	819	0	42.81
2	Amravati Rural	11	0	0.51	4	0	0.18	758	0	34.83
3	Buldhana	13	0	0.48	2	0	0.07	1312	0	48.02
4	Yavatmal	20	0	0.68	2	0	0.07	431	0	14.58
5	Washim	7	0	0.55	1	0	0.08	1516	0	118.28
*	**Amravati Range**	**92**	**0**	**0.83**	**15**	**0**	**0.14**	**4836**	**0**	**43.73**
6	Aurangabad Rural	9	0	0.38	3	0	0.13	280	0	11.81
7	Jalna	8	0	0.38	3	0	0.14	350	0	16.60
8	Beed	25	0	0.90	0	0	0.00	1109	0	39.95
9	Osmanabad	2	0	0.11	2	0	0.11	410	0	23.22
*	**Aurangabad Range**	**44**	**0**	**0.49**	**8**	**0**	**0.09**	**2149**	**0**	**23.82**
10	Nanded	23	0	0.64	3	0	0.08	462	0	12.84
11	Latur	7	0	0.27	4	0	0.15	361	0	13.72
12	Parbhani	7	0	0.35	0	0	0.00	647	0	32.81
13	Hingoli	2	0	0.16	2	0	0.16	175	0	13.84
*	**Nanded Range**	**39**	**0**	**0.41**	**9**	**0**	**0.10**	**1645**	**0**	**17.38**
14	Kolhapur	19	0	0.46	3	0	0.07	486	0	11.79
15	Pune Rural	50	0	1.12	4	0	0.09	509	0	11.44
16	Sangli	30	0	1.00	4	0	0.13	720	0	24.01
17	Satara	21	0	0.66	7	0	0.22	582	0	18.28
18	Solapur Rural	5	0	0.14	3	0	0.08	814	0	22.78
*	**Kolhapur Range**	**125**	**0**	**0.68**	**21**	**0**	**0.11**	**3111**	**0**	**16.98**
19	Bhandara	5	0	0.39	7	0	0.55	335	0	26.36
20	Chandrapur	10	0	0.43	3	0	0.13	405	0	17.35
21	Nagpur Rural	22	0	0.98	5	0	0.22	752	0	33.41
22	Wardha	32	0	2.32	3	0	0.22	466	0	33.85
*	**Nagpur Range**	**69**	**0**	**0.95**	**18**	**0**	**0.25**	**1958**	**0**	**27.07**
23	Gadchiroli	3	0	0.26	1	0	0.09	68	0	5.96
24	Gondia	2	0	0.14	1	0	0.07	148	0	10.53
*	**Gadchiroli Range**	**5**	**0**	**0.20**	**2**	**0**	**0.08**	**216**	**0**	**8.48**
25	Ahmednagar	32	0	0.67	5	0	0.10	1117	0	23.26
26	Dhule	8	0	0.36	2	0	0.09	397	0	18.03
27	Jalgaon	42	0	0.93	8	0	0.18	839	0	18.57
28	Nasik Rural	16	0	0.34	1	0	0.02	366	0	7.69
29	Nandurbar	3	0	0.17	5	0	0.28	264	0	14.84
*	**Nasik Range**	**101**	**0**	**0.56**	**21**	**0**	**0.12**	**2983**	**0**	**16.51**
30	Raigad	8	0	0.43	2	0	0.11	43	0	2.29
31	Ratnagiri	13	0	0.80	2	0	0.12	44	0	2.72
32	Sindhudurg	2	0	0.24	0	0	0.00	68	0	8.00
33	Thane Rural	15	0	0.63	6	0	0.25	36	0	1.50
34	Palghar	8	0	0.25	6	0	0.19	20	0	0.63
*	**Thane Range**	**46**	**0**	**0.46**	**16**	**0**	**0.16**	**211**	**0**	**2.13**
35	Mumbai Railway	3	0		7	0		3	0	
36	Pune Railway	0	0		1	0		3	0	
37	Nagpur Railway	3	0		14	0		1	0	
*	**Railway Range**	**6**	**0**		**22**	**0**		**7**	**0**	
38	Nagpur Commr.	315	0	11.65	52	0	1.92	1017	0	37.61
39	Pune Commr.	111	0	1.93	54	0	0.94	412	0	7.18
40	Thane Commr.	61	0	1.20	76	0	1.49	142	0	2.79
41	Mumbai Commr.	120	0	0.95	18628	0	147.49	565	0	4.47
42	Nasik Commr.	48	0	2.76	7	0	0.40	124	0	7.12
43	Aurangabad Commr.	18	0	1.12	1	0	0.06	65	0	4.06
44	Solapur Commr.	6	0	0.58	0	0	0.00	344	0	33.48
45	Navi Mumbai	21	0	0.98	23	0	1.08	79	0	3.70
46	Amravati Commr.	26	0	3.03	6	0	0.70	307	0	35.74
	Total Commrs.	**726**	**0**	**2.17**	**18847**	**0**	**56.21**	**3055**	**0**	**9.11**
	Total of M.S	**1253**	**0**	**1.05**	**18979**	**0**	**15.93**	**20171**	**0**	**16.93**

तक्ता क्र. १२(चालू)

Table No- 12 (Continued)

Sr.No.	Unit	Excise Act			Prohibition Act			Explosives and Explosive Substances Act		
		I	V	R	I	V	R	I	V	R
1	2	12	13	14	15	16	17	18	19	20
1	Akola	0	0	0.00	1370	0	71.62	0	0	0.00
2	Amravati Rural	0	0	0.00	3081	0	141.59	1	0	0.05
3	Buldhana	0	0	0.00	2973	0	108.82	1	0	0.04
4	Yavatmal	0	0	0.00	3288	0	111.21	1	0	0.03
5	Washim	0	0	0.00	1385	0	108.06	0	0	0.00
*	**Amravati Range**	**0**	**0**	**0.00**	**12097**	**0**	**109.38**	**3**	**0**	**0.03**
6	Aurangabad Rural	0	0	0.00	1150	0	48.49	0	0	0.00
7	Jalna	0	0	0.00	1120	0	53.13	0	0	0.00
8	Beed	0	0	0.00	1220	0	43.95	1	0	0.04
9	Osmanabad	0	0	0.00	618	0	35.01	0	0	0.00
*	**Aurangabad Range**	**0**	**0**	**0.00**	**4108**	**0**	**45.54**	**1**	**0**	**0.01**
10	Nanded	0	0	0.00	1462	0	40.63	0	0	0.00
11	Latur	0	0	0.00	1045	0	39.73	5	0	0.19
12	Parbhani	0	0	0.00	686	0	34.79	0	0	0.00
13	Hingoli	0	0	0.00	550	0	43.51	0	0	0.00
*	**Nanded Range**	**0**	**0**	**0.00**	**3743**	**0**	**39.55**	**5**	**0**	**0.05**
14	Kolhapur	0	0	0.00	806	0	19.55	1	0	0.02
15	Pune Rural	0	0	0.00	1673	0	37.61	49	0	1.10
16	Sangli	0	0	0.00	614	0	20.48	15	0	0.50
17	Satara	0	0	0.00	684	0	21.48	1	0	0.03
18	Solapur Rural	0	0	0.00	3155	0	88.29	2	0	0.06
*	**Kolhapur Range**	**0**	**0**	**0.00**	**6932**	**0**	**37.83**	**68**	**0**	**0.37**
19	Bhandara	0	0	0.00	1623	0	127.70	0	0	0.00
20	Chandrapur	0	0	0.00	5487	0	235.00	0	0	0.00
21	Nagpur Rural	0	0	0.00	2909	0	129.26	0	0	0.00
22	Wardha	0	0	0.00	9993	0	725.93	1	0	0.07
*	**Nagpur Range**	**0**	**0**	**0.00**	**20012**	**0**	**276.68**	**1**	**0**	**0.01**
23	Gadchiroli	0	0	0.00	1626	0	142.40	1	0	0.09
24	Gondia	0	0	0.00	2048	0	145.66	2	0	0.14
*	**Gadchiroli Range**	**0**	**0**	**0.00**	**3674**	**0**	**144.20**	**3**	**0**	**0.12**
25	Ahmednagar	0	0	0.00	1984	0	41.32	1	0	0.02
26	Dhule	0	0	0.00	630	0	28.61	0	0	0.00
27	Jalgaon	0	0	0.00	2053	0	45.44	0	0	0.00
28	Nasik Rural	0	0	0.00	1370	0	28.77	0	0	0.00
29	Nandurbar	0	0	0.00	670	0	37.66	0	0	0.00
*	**Nasik Range**	**0**	**0**	**0.00**	**6707**	**0**	**37.13**	**1**	**0**	**0.01**
30	Raigad	0	0	0.00	369	0	19.66	1	0	0.05
31	Ratnagiri	0	0	0.00	321	0	19.88	0	0	0.00
32	Sindhudurg	0	0	0.00	169	0	19.88	2	0	0.24
33	Thane Rural	0	0	0.00	426	0	17.77	0	0	0.00
34	Palghar	0	0	0.00	331	0	10.47	0	0	0.00
*	**Thane Range**	**0**	**0**	**0.00**	**1616**	**0**	**16.32**	**3**	**0**	**0.03**
35	Mumbai Railway	0	0		7	0		0	0	
36	Pune Railway	0	0		0	0		0	0	
37	Nagpur Railway	0	0		82	0		0	0	
*	**Railway Range**	**0**	**0**		**89**	**0**		**0**	**0**	
38	Nagpur Commr.	0	0	0.00	1336	0	49.41	1	0	0.04
39	Pune Commr.	0	0	0.00	1376	0	23.97	1	0	0.02
40	Thane Commr.	0	0	0.00	378	0	7.43	0	0	0.00
41	Mumbai Commr.	0	0	0.00	574	0	4.54	0	0	0.00
42	Nasik Commr.	0	0	0.00	233	0	13.38	1	0	0.06
43	Aurangabad Commr.	0	0	0.00	407	0	25.41	0	0	0.00
44	Solapur Commr.	0	0	0.00	719	0	69.97	0	0	0.00
45	Navi Mumbai	0	0	0.00	353	0	16.51	0	0	0.00
46	Amravati Commr.	0	0	0.00	774	0	90.10	0	0	0.00
	Total Commrs.	**0**	**0**	**0.00**	**6150**	**0**	**18.34**	**3**	**0**	**0.01**
	Total of M.S	**0**	**0**	**0.00**	**65128**	**0**	**54.66**	**88**	**0**	**0.07**

तक्ता क्र. १२(चालू)

Table No- 12 (Continued)

Sr.No.	Unit	Immoral Traffic (Prevention) Act								
		Immoral Traffic (Prevention) Act Total			Under Section 5			Under Section 6		
		I	V	R	I	V	R	I	V	R
1	2	21	22	23	24	25	26	27	28	29
1	Akola	0	0	0.00	0	0	0.00	0	0	0.00
2	Amravati Rural	0	0	0.00	0	0	0.00	0	0	0.00
3	Buldhana	0	0	0.00	0	0	0.00	0	0	0.00
4	Yavatmal	3	3	0.10	1	1	0.03	0	0	0.00
5	Washim	0	0	0.00	0	0	0.00	0	0	0.00
*	**Amravati Range**	**3**	**3**	**0.03**	**1**	**1**	**0.01**	**0**	**0**	**0.00**
6	Aurangabad Rural	1	1	0.04	0	0	0.00	0	0	0.00
7	Jalna	2	2	0.09	0	0	0.00	0	0	0.00
8	Beed	3	8	0.11	2	4	0.07	1	4	0.04
9	Osmanabad	0	0	0.00	0	0	0.00	0	0	0.00
*	**Aurangabad Range**	**6**	**11**	**0.07**	**2**	**4**	**0.02**	**1**	**4**	**0.01**
10	Nanded	2	4	0.06	0	0	0.00	0	0	0.00
11	Latur	6	6	0.23	0	0	0.00	0	0	0.00
12	Parbhani	0	0	0.00	0	0	0.00	0	0	0.00
13	Hingoli	0	0	0.00	0	0	0.00	0	0	0.00
*	**Nanded Range**	**8**	**10**	**0.08**	**0**	**0**	**0.00**	**0**	**0**	**0.00**
14	Kolhapur	16	19	0.39	1	1	0.02	0	0	0.00
15	Pune Rural	4	4	0.09	4	4	0.09	0	0	0.00
16	Sangli	1	1	0.03	0	0	0.00	0	0	0.00
17	Satara	2	6	0.06	0	0	0.00	0	0	0.00
18	Solapur Rural	0	0	0.00	0	0	0.00	0	0	0.00
*	**Kolhapur Range**	**23**	**30**	**0.13**	**5**	**5**	**0.03**	**0**	**0**	**0.00**
19	Bhandara	3	3	0.24	0	0	0.00	0	0	0.00
20	Chandrapur	2	2	0.09	0	0	0.00	0	0	0.00
21	Nagpur Rural	0	0	0.00	0	0	0.00	0	0	0.00
22	Wardha	0	0	0.00	0	0	0.00	0	0	0.00
*	**Nagpur Range**	**5**	**5**	**0.07**	**0**	**0**	**0.00**	**0**	**0**	**0.00**
23	Gadchiroli	0	0	0.00	0	0	0.00	0	0	0.00
24	Gondia	0	0	0.00	0	0	0.00	0	0	0.00
*	**Gadchiroli Range**	**0**	**0**	**0.00**	**0**	**0**	**0.00**	**0**	**0**	**0.00**
25	Ahmednagar	4	4	0.08	4	4	0.08	0	0	0.00
26	Dhule	0	0	0.00	0	0	0.00	0	0	0.00
27	Jalgaon	1	7	0.02	0	0	0.00	0	0	0.00
28	Nasik Rural	2	2	0.04	0	0	0.00	2	2	0.04
29	Nandurbar	1	2	0.06	0	0	0.00	0	0	0.00
*	**Nasik Range**	**8**	**15**	**0.04**	**4**	**4**	**0.02**	**2**	**2**	**0.01**
30	Raigad	0	0	0.00	0	0	0.00	0	0	0.00
31	Ratnagiri	0	0	0.00	0	0	0.00	0	0	0.00
32	Sindhudurg	0	0	0.00	0	0	0.00	0	0	0.00
33	Thane Rural	13	13	0.54	0	0	0.00	0	0	0.00
34	Palghar	3	6	0.09	0	0	0.00	0	0	0.00
*	**Thane Range**	**16**	**19**	**0.16**	**0**	**0**	**0.00**	**0**	**0**	**0.00**
35	Mumbai Railway	0	0		0	0		0	0	
36	Pune Railway	0	0		0	0		0	0	
37	Nagpur Railway	0	0		0	0		0	0	
*	**Railway Range**	**0**	**0**		**0**	**0**		**0**	**0**	
38	Nagpur Commr.	135	144	4.99	2	2	0.07	1	2	0.04
39	Pune Commr.	63	82	1.10	54	73	0.94	0	0	0.00
40	Thane Commr.	28	34	0.55	17	23	0.33	0	0	0.00
41	Mumbai Commr.	85	133	0.67	27	74	0.21	0	0	0.00
42	Nasik Commr.	5	11	0.29	4	5	0.23	0	0	0.00
43	Aurangabad Commr.	3	6	0.19	2	5	0.12	0	0	0.00
44	Solapur Commr.	1	1	0.10	0	0	0.00	0	0	0.00
45	Navi Mumbai	11	20	0.51	8	14	0.37	0	0	0.00
46	Amravati Commr.	0	0	0.00	0	0	0.00	0	0	0.00
	Total Commrs.	**331**	**431**	**0.99**	**114**	**196**	**0.34**	**1**	**2**	**0.00**
	Total of M.S	**400**	**524**	**0.34**	**126**	**210**	**0.11**	**4**	**8**	**0.00**

तक्ता क्र. १२(चालू)

Table No- 12 (Continued)

Sr.No.	Unit	Immoral Traffic (Prevention) Act								
		Under Section 7			Under Section 8			Others		
		I	V	R	I	V	R	I	V	R
1	2	30	31	32	33	34	35	36	37	38
1	Akola	0	0	0.00	0	0	0.00	0	0	0.00
2	Amravati Rural	0	0	0.00	0	0	0.00	0	0	0.00
3	Buldhana	0	0	0.00	0	0	0.00	0	0	0.00
4	Yavatmal	0	0	0.00	0	0	0.00	2	2	0.07
5	Washim	0	0	0.00	0	0	0.00	0	0	0.00
*	**Amravati Range**	**0**	**0**	**0.00**	**0**	**0**	**0.00**	**2**	**2**	**0.02**
6	Aurangabad Rural	1	1	0.04	0	0	0.00	0	0	0.00
7	Jalna	0	0	0.00	0	0	0.00	2	2	0.09
8	Beed	0	0	0.00	0	0	0.00	0	0	0.00
9	Osmanabad	0	0	0.00	0	0	0.00	0	0	0.00
*	**Aurangabad Range**	**1**	**1**	**0.01**	**0**	**0**	**0.00**	**2**	**2**	**0.02**
10	Nanded	0	0	0.00	0	0	0.00	2	4	0.06
11	Latur	6	6	0.23	0	0	0.00	0	0	0.00
12	Parbhani	0	0	0.00	0	0	0.00	0	0	0.00
13	Hingoli	0	0	0.00	0	0	0.00	0	0	0.00
*	**Nanded Range**	**6**	**6**	**0.06**	**0**	**0**	**0.00**	**2**	**4**	**0.02**
14	Kolhapur	0	0	0.00	12	12	0.29	3	6	0.07
15	Pune Rural	0	0	0.00	0	0	0.00	0	0	0.00
16	Sangli	0	0	0.00	0	0	0.00	1	1	0.03
17	Satara	2	6	0.06	0	0	0.00	0	0	0.00
18	Solapur Rural	0	0	0.00	0	0	0.00	0	0	0.00
*	**Kolhapur Range**	**2**	**6**	**0.01**	**12**	**12**	**0.07**	**4**	**7**	**0.02**
19	Bhandara	3	3	0.24	0	0	0.00	0	0	0.00
20	Chandrapur	0	0	0.00	0	0	0.00	2	2	0.09
21	Nagpur Rural	0	0	0.00	0	0	0.00	0	0	0.00
22	Wardha	0	0	0.00	0	0	0.00	0	0	0.00
*	**Nagpur Range**	**3**	**3**	**0.04**	**0**	**0**	**0.00**	**2**	**2**	**0.03**
23	Gadchiroli	0	0	0.00	0	0	0.00	0	0	0.00
24	Gondia	0	0	0.00	0	0	0.00	0	0	0.00
*	**Gadchiroli Range**	**0**	**0**	**0.00**	**0**	**0**	**0.00**	**0**	**0**	**0.00**
25	Ahmednagar	0	0	0.00	0	0	0.00	0	0	0.00
26	Dhule	0	0	0.00	0	0	0.00	0	0	0.00
27	Jalgaon	0	0	0.00	0	0	0.00	1	7	0.02
28	Nasik Rural	0	0	0.00	0	0	0.00	0	0	0.00
29	Nandurbar	0	0	0.00	0	0	0.00	1	2	0.06
*	**Nasik Range**	**0**	**0**	**0.00**	**0**	**0**	**0.00**	**2**	**9**	**0.01**
30	Raigad	0	0	0.00	0	0	0.00	0	0	0.00
31	Ratnagiri	0	0	0.00	0	0	0.00	0	0	0.00
32	Sindhudurg	0	0	0.00	0	0	0.00	0	0	0.00
33	Thane Rural	0	0	0.00	0	0	0.00	13	13	0.54
34	Palghar	0	0	0.00	0	0	0.00	3	6	0.09
*	**Thane Range**	**0**	**0**	**0.00**	**0**	**0**	**0.00**	**16**	**19**	**0.16**
35	Mumbai Railway	0	0		0	0		0	0	
36	Pune Railway	0	0		0	0		0	0	
37	Nagpur Railway	0	0		0	0		0	0	
*	**Railway Range**	**0**	**0**		**0**	**0**		**0**	**0**	
38	Nagpur Commr.	28	36	1.04	104	104	3.85	0	0	0.00
39	Pune Commr.	3	3	0.05	0	0	0.00	6	6	0.10
40	Thane Commr.	0	0	0.00	0	0	0.00	11	11	0.22
41	Mumbai Commr.	5	6	0.04	22	22	0.17	31	31	0.25
42	Nasik Commr.	1	6	0.06	0	0	0.00	0	0	0.00
43	Aurangabad Commr.	0	0	0.00	1	1	0.06	0	0	0.00
44	Solapur Commr.	0	0	0.00	0	0	0.00	1	1	0.10
45	Navi Mumbai	0	0	0.00	1	1	0.05	2	5	0.09
46	Amravati Commr.	0	0	0.00	0	0	0.00	0	0	0.00
	Total Commrs.	**37**	**51**	**0.11**	**128**	**128**	**0.38**	**51**	**54**	**0.15**
	Total of M.S	**49**	**67**	**0.04**	**140**	**140**	**0.12**	**81**	**99**	**0.07**

तक्ता क्र. १२(चालू)

Table No- 12 (Continued)

Sr.No.	Unit	Indian Railways Act			Registration Of Foreigners Act			Protection Of Civil Rights Act(Total)		
		I	V	R	I	V	R	I	V	R
1	2	39	40	41	42	43	44	45	46	47
1	Akola	0	0	0.00	0	0	0.00	0	0	0.00
2	Amravati Rural	0	0	0.00	0	0	0.00	0	0	0.00
3	Buldhana	0	0	0.00	0	0	0.00	0	0	0.00
4	Yavatmal	0	0	0.00	0	0	0.00	0	0	0.00
5	Washim	0	0	0.00	0	0	0.00	0	0	0.00
*	**Amravati Range**	**0**	**0**	**0.00**	**0**	**0**	**0.00**	**0**	**0**	**0.00**
6	Aurangabad Rural	0	0	0.00	0	0	0.00	0	0	0.00
7	Jalna	0	0	0.00	0	0	0.00	0	0	0.00
8	Beed	0	0	0.00	0	0	0.00	0	0	0.00
9	Osmanabad	0	0	0.00	0	0	0.00	0	0	0.00
*	**Aurangabad Range**	**0**	**0**	**0.00**	**0**	**0**	**0.00**	**0**	**0**	**0.00**
10	Nanded	0	0	0.00	0	0	0.00	0	0	0.00
11	Latur	0	0	0.00	0	0	0.00	0	0	0.00
12	Parbhani	0	0	0.00	0	0	0.00	0	0	0.00
13	Hingoli	0	0	0.00	0	0	0.00	0	0	0.00
*	**Nanded Range**	**0**	**0**	**0.00**	**0**	**0**	**0.00**	**0**	**0**	**0.00**
14	Kolhapur	0	0	0.00	0	0	0.00	4	4	0.10
15	Pune Rural	0	0	0.00	0	0	0.00	3	3	0.07
16	Sangli	0	0	0.00	0	0	0.00	0	0	0.00
17	Satara	0	0	0.00	0	0	0.00	0	0	0.00
18	Solapur Rural	3	3	0.08	0	0	0.00	0	0	0.00
*	**Kolhapur Range**	**3**	**3**	**0.02**	**0**	**0**	**0.00**	**7**	**7**	**0.04**
19	Bhandara	0	0	0.00	0	0	0.00	0	0	0.00
20	Chandrapur	0	0	0.00	0	0	0.00	0	0	0.00
21	Nagpur Rural	0	0	0.00	0	0	0.00	0	0	0.00
22	Wardha	0	0	0.00	0	0	0.00	0	0	0.00
*	**Nagpur Range**	**0**	**0**	**0.00**	**0**	**0**	**0.00**	**0**	**0**	**0.00**
23	Gadchiroli	0	0	0.00	0	0	0.00	0	0	0.00
24	Gondia	0	0	0.00	0	0	0.00	0	0	0.00
*	**Gadchiroli Range**	**0**	**0**	**0.00**	**0**	**0**	**0.00**	**0**	**0**	**0.00**
25	Ahmednagar	0	0	0.00	0	0	0.00	0	0	0.00
26	Dhule	0	0	0.00	0	0	0.00	0	0	0.00
27	Jalgaon	0	0	0.00	0	0	0.00	0	0	0.00
28	Nasik Rural	0	0	0.00	0	0	0.00	0	0	0.00
29	Nandurbar	0	0	0.00	0	0	0.00	0	0	0.00
*	**Nasik Range**	**0**	**0**	**0.00**	**0**	**0**	**0.00**	**0**	**0**	**0.00**
30	Raigad	0	0	0.00	0	0	0.00	0	0	0.00
31	Ratnagiri	0	0	0.00	0	0	0.00	2	2	0.12
32	Sindhudurg	2	2	0.24	0	0	0.00	0	0	0.00
33	Thane Rural	0	0	0.00	0	0	0.00	0	0	0.00
34	Palghar	0	0	0.00	0	0	0.00	0	0	0.00
*	**Thane Range**	**2**	**2**	**0.02**	**0**	**0**	**0.00**	**2**	**2**	**0.02**
35	Mumbai Railway	17	17		0	0		0	0	
36	Pune Railway	7	4		0	0		0	0	
37	Nagpur Railway	0	0		0	0		0	0	
*	**Railway Range**	**24**	**21**		**0**	**0**		**0**	**0**	
38	Nagpur Commr.	0	0	0.00	0	0	0.00	0	0	0.00
39	Pune Commr.	0	0	0.00	0	0	0.00	10	10	0.17
40	Thane Commr.	0	0	0.00	0	0	0.00	0	0	0.00
41	Mumbai Commr.	1	0	0.01	1	0	0.01	1	1	0.01
42	Nasik Commr.	0	0	0.00	0	0	0.00	0	0	0.00
43	Aurangabad Commr.	0	0	0.00	0	0	0.00	0	0	0.00
44	Solapur Commr.	0	0	0.00	0	0	0.00	0	0	0.00
45	Navi Mumbai	0	0	0.00	0	0	0.00	0	0	0.00
46	Amravati Commr.	0	0	0.00	0	0	0.00	0	0	0.00
	Total Commrs.	**1**	**0**	**0.00**	**1**	**0**	**0.00**	**11**	**11**	**0.03**
	Total of M.S	**30**	**26**	**0.03**	**1**	**0**	**0.00**	**20**	**20**	**0.02**

तक्ता क्र. १२(चालू)

Table No- 12 (Continued)

Sr.No.	Unit	Protection Of Civil Rights Act								
		For Crimes Committed Against SCs			For Crimes Committed Against STs			For Crimes Committed Against Others		
		I	V	R	I	V	R	I	V	R
1	2	48	49	50	51	52	53	54	55	56
1	Akola	0	0	0.00	0	0	0.00	0	0	0.00
2	Amravati Rural	0	0	0.00	0	0	0.00	0	0	0.00
3	Buldhana	0	0	0.00	0	0	0.00	0	0	0.00
4	Yavatmal	0	0	0.00	0	0	0.00	0	0	0.00
5	Washim	0	0	0.00	0	0	0.00	0	0	0.00
*	**Amravati Range**	**0**	**0**	**0.00**	**0**	**0**	**0.00**	**0**	**0**	**0.00**
6	Aurangabad Rural	0	0	0.00	0	0	0.00	0	0	0.00
7	Jalna	0	0	0.00	0	0	0.00	0	0	0.00
8	Beed	0	0	0.00	0	0	0.00	0	0	0.00
9	Osmanabad	0	0	0.00	0	0	0.00	0	0	0.00
*	**Aurangabad Range**	**0**	**0**	**0.00**	**0**	**0**	**0.00**	**0**	**0**	**0.00**
10	Nanded	0	0	0.00	0	0	0.00	0	0	0.00
11	Latur	0	0	0.00	0	0	0.00	0	0	0.00
12	Parbhani	0	0	0.00	0	0	0.00	0	0	0.00
13	Hingoli	0	0	0.00	0	0	0.00	0	0	0.00
*	**Nanded Range**	**0**	**0**	**0.00**	**0**	**0**	**0.00**	**0**	**0**	**0.00**
14	Kolhapur	4	4	0.10	0	0	0.00	0	0	0.00
15	Pune Rural	2	2	0.04	1	1	0.02	0	0	0.00
16	Sangli	0	0	0.00	0	0	0.00	0	0	0.00
17	Satara	0	0	0.00	0	0	0.00	0	0	0.00
18	Solapur Rural	0	0	0.00	0	0	0.00	0	0	0.00
*	**Kolhapur Range**	**6**	**6**	**0.03**	**1**	**1**	**0.01**	**0**	**0**	**0.00**
19	Bhandara	0	0	0.00	0	0	0.00	0	0	0.00
20	Chandrapur	0	0	0.00	0	0	0.00	0	0	0.00
21	Nagpur Rural	0	0	0.00	0	0	0.00	0	0	0.00
22	Wardha	0	0	0.00	0	0	0.00	0	0	0.00
*	**Nagpur Range**	**0**	**0**	**0.00**	**0**	**0**	**0.00**	**0**	**0**	**0.00**
23	Gadchiroli	0	0	0.00	0	0	0.00	0	0	0.00
24	Gondia	0	0	0.00	0	0	0.00	0	0	0.00
*	**Gadchiroli Range**	**0**	**0**	**0.00**	**0**	**0**	**0.00**	**0**	**0**	**0.00**
25	Ahmednagar	0	0	0.00	0	0	0.00	0	0	0.00
26	Dhule	0	0	0.00	0	0	0.00	0	0	0.00
27	Jalgaon	0	0	0.00	0	0	0.00	0	0	0.00
28	Nasik Rural	0	0	0.00	0	0	0.00	0	0	0.00
29	Nandurbar	0	0	0.00	0	0	0.00	0	0	0.00
*	**Nasik Range**	**0**	**0**	**0.00**	**0**	**0**	**0.00**	**0**	**0**	**0.00**
30	Raigad	0	0	0.00	0	0	0.00	0	0	0.00
31	Ratnagiri	2	2	0.12	0	0	0.00	0	0	0.00
32	Sindhudurg	0	0	0.00	0	0	0.00	0	0	0.00
33	Thane Rural	0	0	0.00	0	0	0.00	0	0	0.00
34	Palghar	0	0	0.00	0	0	0.00	0	0	0.00
*	**Thane Range**	**2**	**2**	**0.02**	**0**	**0**	**0.00**	**0**	**0**	**0.00**
35	Mumbai Railway	0	0		0	0		0	0	
36	Pune Railway	0	0		0	0		0	0	
37	Nagpur Railway	0	0		0	0		0	0	
*	**Railway Range**	**0**	**0**		**0**	**0**		**0**	**0**	
38	Nagpur Commr.	0	0	0.00	0	0	0.00	0	0	0.00
39	Pune Commr.	0	0	0.00	0	0	0.00	10	10	0.17
40	Thane Commr.	0	0	0.00	0	0	0.00	0	0	0.00
41	Mumbai Commr.	1	1	0.01	0	0	0.00	0	0	0.00
42	Nasik Commr.	0	0	0.00	0	0	0.00	0	0	0.00
43	Aurangabad Commr.	0	0	0.00	0	0	0.00	0	0	0.00
44	Solapur Commr.	0	0	0.00	0	0	0.00	0	0	0.00
45	Navi Mumbai	0	0	0.00	0	0	0.00	0	0	0.00
46	Amravati Commr.	0	0	0.00	0	0	0.00	0	0	0.00
	Total Commrs.	**1**	**1**	**0.00**	**0**	**0**	**0.00**	**10**	**10**	**0.03**
	Total of M.S	**9**	**9**	**0.01**	**1**	**1**	**0.00**	**10**	**10**	**0.01**

तक्ता क्र. १२(चालू)

Table No- 12 (Continued)

Sr.No.	Unit	Passport Act			Essential Commodities Act			Antiquities & Art Treasures Act		
		I	V	R	I	V	R	I	V	R
1	2	57	58	59	60	61	62	63	64	65
1	Akola	1	0	0.05	27	0	1.41	0	0	0.00
2	Amravati Rural	0	0	0.00	6	0	0.28	0	0	0.00
3	Buldhana	0	0	0.00	13	0	0.48	1	0	0.04
4	Yavatmal	0	0	0.00	43	0	1.45	0	0	0.00
5	Washim	0	0	0.00	5	0	0.39	0	0	0.00
*	**Amravati Range**	**1**	**0**	**0.01**	**94**	**0**	**0.85**	**1**	**0**	**0.01**
6	Aurangabad Rural	0	0	0.00	10	0	0.42	0	0	0.00
7	Jalna	0	0	0.00	16	0	0.76	0	0	0.00
8	Beed	0	0	0.00	34	0	1.22	0	0	0.00
9	Osmanabad	0	0	0.00	10	0	0.57	0	0	0.00
*	**Aurangabad Range**	**0**	**0**	**0.00**	**70**	**0**	**0.78**	**0**	**0**	**0.00**
10	Nanded	0	0	0.00	33	0	0.92	0	0	0.00
11	Latur	0	0	0.00	10	0	0.38	0	0	0.00
12	Parbhani	0	0	0.00	11	0	0.56	0	0	0.00
13	Hingoli	0	0	0.00	8	0	0.63	0	0	0.00
*	**Nanded Range**	**0**	**0**	**0.00**	**62**	**0**	**0.66**	**0**	**0**	**0.00**
14	Kolhapur	0	0	0.00	19	0	0.46	0	0	0.00
15	Pune Rural	1	0	0.02	14	0	0.31	0	0	0.00
16	Sangli	0	0	0.00	12	0	0.40	0	0	0.00
17	Satara	0	0	0.00	1	0	0.03	0	0	0.00
18	Solapur Rural	0	0	0.00	14	0	0.39	0	0	0.00
*	**Kolhapur Range**	**1**	**0**	**0.01**	**60**	**0**	**0.33**	**0**	**0**	**0.00**
19	Bhandara	0	0	0.00	4	0	0.31	0	0	0.00
20	Chandrapur	0	0	0.00	3	0	0.13	0	0	0.00
21	Nagpur Rural	0	0	0.00	14	0	0.62	0	0	0.00
22	Wardha	0	0	0.00	13	0	0.94	0	0	0.00
*	**Nagpur Range**	**0**	**0**	**0.00**	**34**	**0**	**0.47**	**0**	**0**	**0.00**
23	Gadchiroli	0	0	0.00	3	0	0.26	0	0	0.00
24	Gondia	0	0	0.00	2	0	0.14	0	0	0.00
*	**Gadchiroli Range**	**0**	**0**	**0.00**	**5**	**0**	**0.20**	**0**	**0**	**0.00**
25	Ahmednagar	0	0	0.00	16	0	0.33	0	0	0.00
26	Dhule	0	0	0.00	8	0	0.36	0	0	0.00
27	Jalgaon	0	0	0.00	10	0	0.22	0	0	0.00
28	Nasik Rural	0	0	0.00	17	0	0.36	0	0	0.00
29	Nandurbar	0	0	0.00	6	0	0.34	0	0	0.00
*	**Nasik Range**	**0**	**0**	**0.00**	**57**	**0**	**0.32**	**0**	**0**	**0.00**
30	Raigad	0	0	0.00	4	0	0.21	0	0	0.00
31	Ratnagiri	0	0	0.00	0	0	0.00	0	0	0.00
32	Sindhudurg	0	0	0.00	0	0	0.00	0	0	0.00
33	Thane Rural	6	0	0.25	11	0	0.46	0	0	0.00
34	Palghar	0	0	0.00	16	0	0.51	0	0	0.00
*	**Thane Range**	**6**	**0**	**0.06**	**31**	**0**	**0.31**	**0**	**0**	**0.00**
35	Mumbai Railway	0	0		0	0		0	0	
36	Pune Railway	0	0		0	0		0	0	
37	Nagpur Railway	0	0		0	0		0	0	
*	**Railway Range**	**0**	**0**		**0**	**0**		**0**	**0**	
38	Nagpur Commr.	2	0	0.07	15	0	0.55	0	0	0.00
39	Pune Commr.	1	0	0.02	35	0	0.61	0	0	0.00
40	Thane Commr.	13	0	0.26	63	0	1.24	0	0	0.00
41	Mumbai Commr.	20	0	0.16	88	0	0.70	0	0	0.00
42	Nasik Commr.	0	0	0.00	7	0	0.40	0	0	0.00
43	Aurangabad Commr.	0	0	0.00	2	0	0.12	0	0	0.00
44	Solapur Commr.	0	0	0.00	68	0	6.62	0	0	0.00
45	Navi Mumbai	6	0	0.28	21	0	0.98	0	0	0.00
46	Amravati Commr.	0	0	0.00	10	0	1.16	0	0	0.00
	Total Commrs.	**42**	**0**	**0.13**	**309**	**0**	**0.92**	**0**	**0**	**0.00**
	Total of M.S	**50**	**0**	**0.04**	**722**	**0**	**0.61**	**1**	**0**	**0.00**

तक्ता क्र. १२(चालू)

Table No- 12 (Continued)

Sr.No.	Unit	Dowry Prohibition Act			Indecent Representation Of Women (Prohibition) Act			Copyright Act		
		I	V	R	I	V	R	I	V	R
1	2	66	67	68	69	70	71	72	73	74
1	Akola	3	3	0.16	0	0	0.00	1	1	0.05
2	Amravati Rural	0	0	0.00	0	0	0.00	1	0	0.05
3	Buldhana	2	2	0.07	0	0	0.00	0	0	0.00
4	Yavatmal	2	2	0.07	0	0	0.00	4	2	0.14
5	Washim	0	0	0.00	0	0	0.00	0	0	0.00
*	**Amravati Range**	**7**	**7**	**0.06**	**0**	**0**	**0.00**	**6**	**3**	**0.05**
6	Aurangabad Rural	0	0	0.00	0	0	0.00	0	0	0.00
7	Jalna	0	0	0.00	0	0	0.00	0	0	0.00
8	Beed	0	0	0.00	0	0	0.00	7	0	0.25
9	Osmanabad	0	0	0.00	0	0	0.00	3	0	0.17
*	**Aurangabad Range**	**0**	**0**	**0.00**	**0**	**0**	**0.00**	**10**	**0**	**0.11**
10	Nanded	0	0	0.00	0	0	0.00	9	9	0.25
11	Latur	0	0	0.00	0	0	0.00	6	0	0.23
12	Parbhani	1	1	0.05	0	0	0.00	12	0	0.61
13	Hingoli	0	0	0.00	0	0	0.00	0	0	0.00
*	**Nanded Range**	**1**	**1**	**0.01**	**0**	**0**	**0.00**	**27**	**9**	**0.29**
14	Kolhapur	0	0	0.00	0	0	0.00	19	0	0.46
15	Pune Rural	0	0	0.00	0	0	0.00	11	11	0.25
16	Sangli	0	0	0.00	0	0	0.00	3	3	0.10
17	Satara	0	0	0.00	0	0	0.00	7	0	0.22
18	Solapur Rural	0	0	0.00	0	0	0.00	4	4	0.11
*	**Kolhapur Range**	**0**	**0**	**0.00**	**0**	**0**	**0.00**	**44**	**18**	**0.24**
19	Bhandara	0	0	0.00	0	0	0.00	1	0	0.08
20	Chandrapur	7	7	0.30	0	0	0.00	5	0	0.21
21	Nagpur Rural	8	8	0.36	0	0	0.00	3	3	0.13
22	Wardha	1	1	0.07	0	0	0.00	1	1	0.07
*	**Nagpur Range**	**16**	**16**	**0.22**	**0**	**0**	**0.00**	**10**	**4**	**0.14**
23	Gadchiroli	0	0	0.00	0	0	0.00	0	0	0.00
24	Gondia	10	10	0.71	0	0	0.00	0	0	0.00
*	**Gadchiroli Range**	**10**	**10**	**0.39**	**0**	**0**	**0.00**	**0**	**0**	**0.00**
25	Ahmednagar	0	0	0.00	0	0	0.00	4	4	0.08
26	Dhule	0	0	0.00	0	0	0.00	0	0	0.00
27	Jalgaon	1	1	0.02	0	0	0.00	5	5	0.11
28	Nasik Rural	0	0	0.00	0	0	0.00	0	0	0.00
29	Nandurbar	0	0	0.00	0	0	0.00	0	0	0.00
*	**Nasik Range**	**1**	**1**	**0.01**	**0**	**0**	**0.00**	**9**	**9**	**0.05**
30	Raigad	0	0	0.00	0	0	0.00	7	7	0.37
31	Ratnagiri	0	0	0.00	0	0	0.00	2	2	0.12
32	Sindhudurg	0	0	0.00	0	0	0.00	1	1	0.12
33	Thane Rural	0	0	0.00	0	0	0.00	5	5	0.21
34	Palghar	0	0	0.00	0	0	0.00	7	7	0.22
*	**Thane Range**	**0**	**0**	**0.00**	**0**	**0**	**0.00**	**22**	**22**	**0.22**
35	Mumbai Railway	0	0		0	0		0	0	
36	Pune Railway	0	0		0	0		0	0	
37	Nagpur Railway	0	0		0	0		0	0	
*	**Railway Range**	**0**	**0**		**0**	**0**		**0**	**0**	
38	Nagpur Commr.	6	6	0.22	0	0	0.00	15	0	0.55
39	Pune Commr.	0	0	0.00	0	0	0.00	53	42	0.92
40	Thane Commr.	0	0	0.00	0	0	0.00	23	0	0.45
41	Mumbai Commr.	0	0	0.00	0	0	0.00	123	84	0.97
42	Nasik Commr.	0	0	0.00	0	0	0.00	2	0	0.11
43	Aurangabad Commr.	0	0	0.00	0	0	0.00	3	0	0.19
44	Solapur Commr.	0	0	0.00	0	0	0.00	5	5	0.49
45	Navi Mumbai	0	0	0.00	0	0	0.00	15	15	0.70
46	Amravati Commr.	1	1	0.12	0	0	0.00	4	4	0.47
	Total Commrs.	**7**	**7**	**0.02**	**0**	**0**	**0.00**	**243**	**150**	**0.72**
	Total of M.S	**42**	**42**	**0.04**	**0**	**0**	**0.00**	**371**	**215**	**0.31**

तक्ता क्र. १२(चालू)

Table No- 12 (Continued)

Sr.No.	Unit	Commission Of Sati Prevention Act			SC/ST (Prevention Of Atrocities) Act					
					SC/ST (Prevention Of Atrocities) Act (Total)			For Crimes Committed Against SCs		
		I	V	R	I	V	R	I	V	R
1	2	75	76	77	78	79	80	81	82	83
1	Akola	0	0	0.00	2	14	0.10	1	13	0.05
2	Amravati Rural	0	0	0.00	13	13	0.60	9	9	0.41
3	Buldhana	0	0	0.00	5	5	0.18	5	5	0.18
4	Yavatmal	1	1	0.03	18	18	0.61	8	8	0.27
5	Washim	0	0	0.00	9	9	0.70	9	9	0.70
*	**Amravati Range**	**1**	**1**	**0.01**	**47**	**59**	**0.42**	**32**	**44**	**0.29**
6	Aurangabad Rural	0	0	0.00	9	9	0.38	9	9	0.38
7	Jalna	0	0	0.00	0	0	0.00	0	0	0.00
8	Beed	1	1	0.04	1	1	0.04	1	1	0.04
9	Osmanabad	0	0	0.00	12	13	0.68	11	11	0.62
*	**Aurangabad Range**	**1**	**1**	**0.01**	**22**	**23**	**0.24**	**21**	**21**	**0.23**
10	Nanded	0	0	0.00	7	7	0.19	6	6	0.17
11	Latur	0	0	0.00	12	12	0.46	12	12	0.46
12	Parbhani	0	0	0.00	37	37	1.88	33	33	1.67
13	Hingoli	0	0	0.00	0	0	0.00	0	0	0.00
*	**Nanded Range**	**0**	**0**	**0.00**	**56**	**56**	**0.59**	**51**	**51**	**0.54**
14	Kolhapur	0	0	0.00	4	4	0.10	4	4	0.10
15	Pune Rural	1	1	0.02	3	4	0.07	2	3	0.04
16	Sangli	2	4	0.07	22	25	0.73	22	25	0.73
17	Satara	1	2	0.03	36	39	1.13	36	39	1.13
18	Solapur Rural	0	0	0.00	13	13	0.36	13	13	0.36
*	**Kolhapur Range**	**4**	**7**	**0.02**	**78**	**85**	**0.43**	**77**	**84**	**0.42**
19	Bhandara	0	0	0.00	1	1	0.08	1	1	0.08
20	Chandrapur	0	0	0.00	5	5	0.21	4	4	0.17
21	Nagpur Rural	0	0	0.00	0	0	0.00	0	0	0.00
22	Wardha	0	0	0.00	9	9	0.65	9	9	0.65
*	**Nagpur Range**	**0**	**0**	**0.00**	**15**	**15**	**0.21**	**14**	**14**	**0.19**
23	Gadchiroli	0	0	0.00	2	2	0.18	1	1	0.09
24	Gondia	0	0	0.00	2	2	0.14	2	2	0.14
*	**Gadchiroli Range**	**0**	**0**	**0.00**	**4**	**4**	**0.16**	**3**	**3**	**0.12**
25	Ahmednagar	0	0	0.00	6	6	0.12	6	6	0.12
26	Dhule	0	0	0.00	10	10	0.45	6	6	0.27
27	Jalgaon	1	1	0.02	18	23	0.40	12	15	0.27
28	Nasik Rural	0	0	0.00	12	12	0.25	8	8	0.17
29	Nandurbar	0	0	0.00	4	4	0.22	2	2	0.11
*	**Nasik Range**	**1**	**1**	**0.01**	**50**	**55**	**0.28**	**34**	**37**	**0.19**
30	Raigad	0	0	0.00	10	10	0.53	3	3	0.16
31	Ratnagiri	0	0	0.00	3	3	0.19	3	3	0.19
32	Sindhudurg	0	0	0.00	7	7	0.82	7	7	0.82
33	Thane Rural	0	0	0.00	1	3	0.04	1	3	0.04
34	Palghar	0	0	0.00	2	2	0.06	1	1	0.03
*	**Thane Range**	**0**	**0**	**0.00**	**23**	**25**	**0.23**	**15**	**17**	**0.15**
35	Mumbai Railway	0	0		1	1		1	1	
36	Pune Railway	0	0		0	0		0	0	
37	Nagpur Railway	0	0		0	0		0	0	
*	**Railway Range**	**0**	**0**		**1**	**1**		**1**	**1**	
38	Nagpur Commr.	0	0	0.00	5	5	0.18	5	5	0.18
39	Pune Commr.	1	1	0.02	3	3	0.05	3	3	0.05
40	Thane Commr.	1	1	0.02	14	15	0.28	13	13	0.26
41	Mumbai Commr.	1	1	0.01	4	4	0.03	3	3	0.02
42	Nasik Commr.	2	3	0.11	1	1	0.06	1	1	0.06
43	Aurangabad Commr.	2	2	0.12	7	7	0.44	7	7	0.44
44	Solapur Commr.	0	0	0.00	2	2	0.19	2	2	0.19
45	Navi Mumbai	10	10	0.47	3	3	0.14	3	3	0.14
46	Amravati Commr.	2	2	0.23	5	5	0.58	5	5	0.58
	Total Commrs.	**19**	**20**	**0.06**	**44**	**45**	**0.13**	**42**	**42**	**0.13**
	Total of M.S	**26**	**30**	**0.02**	**340**	**368**	**0.29**	**290**	**314**	**0.24**

तक्ता क्र. १२(चालू)

Table No- 12 (Continued)

Sr.No.	Unit	SC/ST (Prevention Of Atrocities) Act For Crimes Committed Against STs			Forest Act			Prohibition Of Child Marriage Act		
		I	V	R	I	V	R	I	V	R
1	2	84	85	86	87	88	89	90	91	92
1	Akola	1	1	0.05	0	0	0.00	1	1	0.05
2	Amravati Rural	4	4	0.18	0	0	0.00	0	0	0.00
3	Buldhana	0	0	0.00	4	0	0.15	0	0	0.00
4	Yavatmal	10	10	0.34	1	0	0.03	0	0	0.00
5	Washim	0	0	0.00	0	0	0.00	0	0	0.00
*	**Amravati Range**	**15**	**15**	**0.14**	**5**	**0**	**0.05**	**1**	**1**	**0.01**
6	Aurangabad Rural	0	0	0.00	0	0	0.00	0	0	0.00
7	Jalna	0	0	0.00	0	0	0.00	0	0	0.00
8	Beed	0	0	0.00	2	0	0.07	3	3	0.11
9	Osmanabad	1	2	0.06	0	0	0.00	1	1	0.06
*	**Aurangabad Range**	**1**	**2**	**0.01**	**2**	**0**	**0.02**	**4**	**4**	**0.04**
10	Nanded	1	1	0.03	2	0	0.06	0	0	0.00
11	Latur	0	0	0.00	0	0	0.00	0	0	0.00
12	Parbhani	4	4	0.20	0	0	0.00	0	0	0.00
13	Hingoli	0	0	0.00	0	0	0.00	0	0	0.00
*	**Nanded Range**	**5**	**5**	**0.05**	**2**	**0**	**0.02**	**0**	**0**	**0.00**
14	Kolhapur	0	0	0.00	0	0	0.00	1	1	0.02
15	Pune Rural	1	1	0.02	0	0	0.00	6	6	0.13
16	Sangli	0	0	0.00	3	3	0.10	0	0	0.00
17	Satara	0	0	0.00	0	0	0.00	3	3	0.09
18	Solapur Rural	0	0	0.00	0	0	0.00	0	0	0.00
*	**Kolhapur Range**	**1**	**1**	**0.01**	**3**	**3**	**0.02**	**10**	**10**	**0.05**
19	Bhandara	0	0	0.00	0	0	0.00	0	0	0.00
20	Chandrapur	1	1	0.04	0	0	0.00	1	1	0.04
21	Nagpur Rural	0	0	0.00	0	0	0.00	0	0	0.00
22	Wardha	0	0	0.00	0	0	0.00	0	0	0.00
*	**Nagpur Range**	**1**	**1**	**0.01**	**0**	**0**	**0.00**	**1**	**1**	**0.01**
23	Gadchiroli	1	1	0.09	0	0	0.00	0	0	0.00
24	Gondia	0	0	0.00	0	0	0.00	0	0	0.00
*	**Gadchiroli Range**	**1**	**1**	**0.04**	**0**	**0**	**0.00**	**0**	**0**	**0.00**
25	Ahmednagar	0	0	0.00	1	0	0.02	1	1	0.02
26	Dhule	4	4	0.18	0	0	0.00	0	0	0.00
27	Jalgaon	6	8	0.13	1	2	0.02	0	0	0.00
28	Nasik Rural	4	4	0.08	0	0	0.00	0	0	0.00
29	Nandurbar	2	2	0.11	0	0	0.00	0	0	0.00
*	**Nasik Range**	**16**	**18**	**0.09**	**2**	**2**	**0.01**	**1**	**1**	**0.01**
30	Raigad	7	7	0.37	0	0	0.00	0	0	0.00
31	Ratnagiri	0	0	0.00	0	0	0.00	0	0	0.00
32	Sindhudurg	0	0	0.00	0	0	0.00	0	0	0.00
33	Thane Rural	0	0	0.00	0	0	0.00	0	0	0.00
34	Palghar	1	1	0.03	0	0	0.00	0	0	0.00
*	**Thane Range**	**8**	**8**	**0.08**	**0**	**0**	**0.00**	**0**	**0**	**0.00**
35	Mumbai Railway	0	0		0	0		0	0	
36	Pune Railway	0	0		0	0		0	0	
37	Nagpur Railway	0	0		0	0		0	0	
*	**Railway Range**	**0**	**0**		**0**	**0**		**0**	**0**	
38	Nagpur Commr.	0	0	0.00	0	0	0.00	1	1	0.04
39	Pune Commr.	0	0	0.00	0	0	0.00	1	1	0.02
40	Thane Commr.	1	2	0.02	0	0	0.00	0	0	0.00
41	Mumbai Commr.	1	1	0.01	4	0	0.03	1	1	0.01
42	Nasik Commr.	0	0	0.00	0	0	0.00	0	0	0.00
43	Aurangabad Commr.	0	0	0.00	0	0	0.00	2	2	0.12
44	Solapur Commr.	0	0	0.00	0	0	0.00	0	0	0.00
45	Navi Mumbai	0	0	0.00	0	0	0.00	1	1	0.05
46	Amravati Commr.	0	0	0.00	0	0	0.00	1	1	0.12
	Total Commrs.	**2**	**3**	**0.01**	**4**	**0**	**0.01**	**7**	**7**	**0.02**
	Total of M.S	**50**	**54**	**0.04**	**18**	**5**	**0.02**	**24**	**24**	**0.02**

तक्ता क्र. १२(चालू)

Table No- 12 (Continued)

Sr.No.	Unit	Protection Of Women From Domestic Violence Act			Information Technology Act			Official Secrets Act		
		I	V	R	I	V	R	I	V	R
1	2	93	94	95	96	97	98	99	100	101
1	Akola	0	0	0.00	5	5	0.26	0	0	0.00
2	Amravati Rural	0	0	0.00	8	8	0.37	0	0	0.00
3	Buldhana	0	0	0.00	2	2	0.07	0	0	0.00
4	Yavatmal	1	1	0.03	3	3	0.10	0	0	0.00
5	Washim	0	0	0.00	0	0	0.00	0	0	0.00
*	**Amravati Range**	**1**	**1**	**0.01**	**18**	**18**	**0.16**	**0**	**0**	**0.00**
6	Aurangabad Rural	0	0	0.00	0	0	0.00	0	0	0.00
7	Jalna	0	0	0.00	8	8	0.38	0	0	0.00
8	Beed	0	0	0.00	1	1	0.04	0	0	0.00
9	Osmanabad	1	1	0.06	1	1	0.06	0	0	0.00
*	**Aurangabad Range**	**1**	**1**	**0.01**	**10**	**10**	**0.11**	**0**	**0**	**0.00**
10	Nanded	0	0	0.00	5	5	0.14	0	0	0.00
11	Latur	0	0	0.00	1	1	0.04	0	0	0.00
12	Parbhani	0	0	0.00	1	1	0.05	0	0	0.00
13	Hingoli	0	0	0.00	0	0	0.00	0	0	0.00
*	**Nanded Range**	**0**	**0**	**0.00**	**7**	**7**	**0.07**	**0**	**0**	**0.00**
14	Kolhapur	0	0	0.00	1	1	0.02	0	0	0.00
15	Pune Rural	0	0	0.00	7	7	0.16	0	0	0.00
16	Sangli	0	0	0.00	1	1	0.03	0	0	0.00
17	Satara	0	0	0.00	7	7	0.22	0	0	0.00
18	Solapur Rural	0	0	0.00	1	1	0.03	0	0	0.00
*	**Kolhapur Range**	**0**	**0**	**0.00**	**17**	**17**	**0.09**	**0**	**0**	**0.00**
19	Bhandara	0	0	0.00	3	3	0.24	0	0	0.00
20	Chandrapur	0	0	0.00	17	17	0.73	0	0	0.00
21	Nagpur Rural	0	0	0.00	2	2	0.09	0	0	0.00
22	Wardha	0	0	0.00	10	10	0.73	0	0	0.00
*	**Nagpur Range**	**0**	**0**	**0.00**	**32**	**32**	**0.44**	**0**	**0**	**0.00**
23	Gadchiroli	0	0	0.00	0	0	0.00	0	0	0.00
24	Gondia	0	0	0.00	6	6	0.43	0	0	0.00
*	**Gadchiroli Range**	**0**	**0**	**0.00**	**6**	**6**	**0.24**	**0**	**0**	**0.00**
25	Ahmednagar	0	0	0.00	10	10	0.21	0	0	0.00
26	Dhule	0	0	0.00	1	1	0.05	0	0	0.00
27	Jalgaon	0	0	0.00	11	11	0.24	0	0	0.00
28	Nasik Rural	0	0	0.00	4	4	0.08	0	0	0.00
29	Nandurbar	0	0	0.00	0	0	0.00	0	0	0.00
*	**Nasik Range**	**0**	**0**	**0.00**	**26**	**26**	**0.14**	**0**	**0**	**0.00**
30	Raigad	0	0	0.00	2	2	0.11	0	0	0.00
31	Ratnagiri	0	0	0.00	1	1	0.06	0	0	0.00
32	Sindhudurg	0	0	0.00	1	1	0.12	0	0	0.00
33	Thane Rural	0	0	0.00	4	4	0.17	0	0	0.00
34	Palghar	1	1	0.03	5	5	0.16	0	0	0.00
*	**Thane Range**	**1**	**1**	**0.01**	**13**	**13**	**0.13**	**0**	**0**	**0.00**
35	Mumbai Railway	0	0		0	0		0	0	
36	Pune Railway	0	0		0	0		0	0	
37	Nagpur Railway	0	0		0	0		0	0	
*	**Railway Range**	**0**	**0**		**0**	**0**		**0**	**0**	
38	Nagpur Commr.	0	0	0.00	38	38	1.41	0	0	0.00
39	Pune Commr.	0	0	0.00	17	17	0.30	0	0	0.00
40	Thane Commr.	0	0	0.00	52	52	1.02	0	0	0.00
41	Mumbai Commr.	5	5	0.04	26	26	0.21	0	0	0.00
42	Nasik Commr.	0	0	0.00	17	17	0.98	0	0	0.00
43	Aurangabad Commr.	0	0	0.00	31	31	1.94	0	0	0.00
44	Solapur Commr.	0	0	0.00	19	19	1.85	0	0	0.00
45	Navi Mumbai	0	0	0.00	12	12	0.56	0	0	0.00
46	Amravati Commr.	0	0	0.00	7	7	0.81	0	0	0.00
	Total Commrs.	**5**	**5**	**0.01**	**219**	**219**	**0.65**	**0**	**0**	**0.00**
	Total of M.S	**8**	**8**	**0.01**	**348**	**348**	**0.29**	**0**	**0**	**0.00**

तक्ता क्र. १२(चालू)

Table No- 12 (Continued)

Sr.No.	Unit	Electricity Act			Wildlife Protection Act			Bonded Labour System (Abolition) Act (Total)		
		I	V	R	I	V	R	I	V	R
1	**2**	**102**	**103**	**104**	**105**	**106**	**107**	**108**	**109**	**110**
1	Akola	77	0	4.03	0	0	0.00	0	0	0.00
2	Amravati Rural	104	0	4.78	0	0	0.00	0	0	0.00
3	Buldhana	29	0	1.06	0	0	0.00	0	0	0.00
4	Yavatmal	134	0	4.53	0	0	0.00	1	1	0.03
5	Washim	32	0	2.50	0	0	0.00	0	0	0.00
*	**Amravati Range**	**376**	**0**	**3.40**	**0**	**0**	**0.00**	**1**	**1**	**0.01**
6	Aurangabad Rural	1	0	0.04	0	0	0.00	0	0	0.00
7	Jalna	1	0	0.05	0	0	0.00	0	0	0.00
8	Beed	2	0	0.07	0	0	0.00	0	0	0.00
9	Osmanabad	5	0	0.28	0	0	0.00	0	0	0.00
*	**Aurangabad Range**	**9**	**0**	**0.10**	**0**	**0**	**0.00**	**0**	**0**	**0.00**
10	Nanded	65	0	1.81	1	0	0.03	0	0	0.00
11	Latur	11	0	0.42	0	0	0.00	0	0	0.00
12	Parbhani	1	0	0.05	0	0	0.00	0	0	0.00
13	Hingoli	0	0	0.00	0	0	0.00	0	0	0.00
*	**Nanded Range**	**77**	**0**	**0.81**	**1**	**0**	**0.01**	**0**	**0**	**0.00**
14	Kolhapur	6	0	0.15	0	0	0.00	0	0	0.00
15	Pune Rural	22	0	0.49	1	1	0.02	0	0	0.00
16	Sangli	4	0	0.13	2	0	0.07	0	0	0.00
17	Satara	142	0	4.46	1	0	0.03	0	0	0.00
18	Solapur Rural	27	0	0.76	0	0	0.00	0	0	0.00
*	**Kolhapur Range**	**201**	**0**	**1.10**	**4**	**1**	**0.02**	**0**	**0**	**0.00**
19	Bhandara	7	0	0.55	0	0	0.00	0	0	0.00
20	Chandrapur	14	0	0.60	0	0	0.00	0	0	0.00
21	Nagpur Rural	7	0	0.31	0	0	0.00	0	0	0.00
22	Wardha	0	0	0.00	0	0	0.00	0	0	0.00
*	**Nagpur Range**	**28**	**0**	**0.39**	**0**	**0**	**0.00**	**0**	**0**	**0.00**
23	Gadchiroli	1	0	0.09	0	0	0.00	0	0	0.00
24	Gondia	0	0	0.00	0	0	0.00	0	0	0.00
*	**Gadchiroli Range**	**1**	**0**	**0.04**	**0**	**0**	**0.00**	**0**	**0**	**0.00**
25	Ahmednagar	34	0	0.71	0	0	0.00	0	0	0.00
26	Dhule	10	0	0.45	0	0	0.00	0	0	0.00
27	Jalgaon	42	0	0.93	0	0	0.00	0	0	0.00
28	Nasik Rural	1	0	0.02	1	0	0.02	0	0	0.00
29	Nandurbar	9	0	0.51	0	0	0.00	0	0	0.00
*	**Nasik Range**	**96**	**0**	**0.53**	**1**	**0**	**0.01**	**0**	**0**	**0.00**
30	Raigad	1	0	0.05	1	1	0.05	0	0	0.00
31	Ratnagiri	0	0	0.00	0	0	0.00	0	0	0.00
32	Sindhudurg	0	0	0.00	0	0	0.00	0	0	0.00
33	Thane Rural	0	0	0.00	0	0	0.00	0	0	0.00
34	Palghar	0	0	0.00	0	0	0.00	0	0	0.00
*	**Thane Range**	**1**	**0**	**0.01**	**1**	**1**	**0.01**	**0**	**0**	**0.00**
35	Mumbai Railway	0	0		0	0		0	0	
36	Pune Railway	0	0		0	0		0	0	
37	Nagpur Railway	0	0		0	0		0	0	
*	**Railway Range**	**0**	**0**		**0**	**0**		**0**	**0**	
38	Nagpur Commr.	4	0	0.15	0	0	0.00	0	0	0.00
39	Pune Commr.	1	0	0.02	7	0	0.12	0	0	0.00
40	Thane Commr.	0	0	0.00	3	0	0.06	3	3	0.06
41	Mumbai Commr.	174	0	1.38	3	3	0.02	0	0	0.00
42	Nasik Commr.	0	0	0.00	0	0	0.00	1	1	0.06
43	Aurangabad Commr.	4	0	0.25	0	0	0.00	0	0	0.00
44	Solapur Commr.	6	0	0.58	0	0	0.00	0	0	0.00
45	Navi Mumbai	0	0	0.00	0	0	0.00	0	0	0.00
46	Amravati Commr.	18	0	2.10	0	0	0.00	0	0	0.00
	Total Commrs.	**207**	**0**	**0.62**	**13**	**3**	**0.04**	**4**	**4**	**0.01**
	Total of M.S	**996**	**0**	**0.84**	**20**	**5**	**0.02**	**5**	**5**	**0.00**

तक्ता क्र. १२(चालू)

Table No- 12 (Continued)

Sr.No.	Unit	Bonded Labour System (Abolition) Act								
		Against SC			Against ST			Against Others		
		I	V	R	I	V	R	I	V	R
1	2	111	112	113	114	115	116	117	118	119
1	Akola	0	0	0.00	0	0	0.00	0	0	0.00
2	Amravati Rural	0	0	0.00	0	0	0.00	0	0	0.00
3	Buldhana	0	0	0.00	0	0	0.00	0	0	0.00
4	Yavatmal	0	0	0.00	0	0	0.00	1	1	0.03
5	Washim	0	0	0.00	0	0	0.00	0	0	0.00
*	**Amravati Range**	**0**	**0**	**0.00**	**0**	**0**	**0.00**	**1**	**1**	**0.01**
6	Aurangabad Rural	0	0	0.00	0	0	0.00	0	0	0.00
7	Jalna	0	0	0.00	0	0	0.00	0	0	0.00
8	Beed	0	0	0.00	0	0	0.00	0	0	0.00
9	Osmanabad	0	0	0.00	0	0	0.00	0	0	0.00
*	**Aurangabad Range**	**0**	**0**	**0.00**	**0**	**0**	**0.00**	**0**	**0**	**0.00**
10	Nanded	0	0	0.00	0	0	0.00	0	0	0.00
11	Latur	0	0	0.00	0	0	0.00	0	0	0.00
12	Parbhani	0	0	0.00	0	0	0.00	0	0	0.00
13	Hingoli	0	0	0.00	0	0	0.00	0	0	0.00
*	**Nanded Range**	**0**	**0**	**0.00**	**0**	**0**	**0.00**	**0**	**0**	**0.00**
14	Kolhapur	0	0	0.00	0	0	0.00	0	0	0.00
15	Pune Rural	0	0	0.00	0	0	0.00	0	0	0.00
16	Sangli	0	0	0.00	0	0	0.00	0	0	0.00
17	Satara	0	0	0.00	0	0	0.00	0	0	0.00
18	Solapur Rural	0	0	0.00	0	0	0.00	0	0	0.00
*	**Kolhapur Range**	**0**	**0**	**0.00**	**0**	**0**	**0.00**	**0**	**0**	**0.00**
19	Bhandara	0	0	0.00	0	0	0.00	0	0	0.00
20	Chandrapur	0	0	0.00	0	0	0.00	0	0	0.00
21	Nagpur Rural	0	0	0.00	0	0	0.00	0	0	0.00
22	Wardha	0	0	0.00	0	0	0.00	0	0	0.00
*	**Nagpur Range**	**0**	**0**	**0.00**	**0**	**0**	**0.00**	**0**	**0**	**0.00**
23	Gadchiroli	0	0	0.00	0	0	0.00	0	0	0.00
24	Gondia	0	0	0.00	0	0	0.00	0	0	0.00
*	**Gadchiroli Range**	**0**	**0**	**0.00**	**0**	**0**	**0.00**	**0**	**0**	**0.00**
25	Ahmednagar	0	0	0.00	0	0	0.00	0	0	0.00
26	Dhule	0	0	0.00	0	0	0.00	0	0	0.00
27	Jalgaon	0	0	0.00	0	0	0.00	0	0	0.00
28	Nasik Rural	0	0	0.00	0	0	0.00	0	0	0.00
29	Nandurbar	0	0	0.00	0	0	0.00	0	0	0.00
*	**Nasik Range**	**0**	**0**	**0.00**	**0**	**0**	**0.00**	**0**	**0**	**0.00**
30	Raigad	0	0	0.00	0	0	0.00	0	0	0.00
31	Ratnagiri	0	0	0.00	0	0	0.00	0	0	0.00
32	Sindhudurg	0	0	0.00	0	0	0.00	0	0	0.00
33	Thane Rural	0	0	0.00	0	0	0.00	0	0	0.00
34	Palghar	0	0	0.00	0	0	0.00	0	0	0.00
*	**Thane Range**	**0**	**0**	**0.00**	**0**	**0**	**0.00**	**0**	**0**	**0.00**
35	Mumbai Railway	0	0		0	0		0	0	
36	Pune Railway	0	0		0	0		0	0	
37	Nagpur Railway	0	0		0	0		0	0	
*	**Railway Range**	**0**	**0**		**0**	**0**		**0**	**0**	
38	Nagpur Commr.	0	0	0.00	0	0	0.00	0	0	0.00
39	Pune Commr.	0	0	0.00	0	0	0.00	0	0	0.00
40	Thane Commr.	0	0	0.00	0	0	0.00	3	3	0.06
41	Mumbai Commr.	0	0	0.00	0	0	0.00	0	0	0.00
42	Nasik Commr.	0	0	0.00	0	0	0.00	0	0	0.00
43	Aurangabad Commr.	0	0	0.00	0	0	0.00	0	0	0.00
44	Solapur Commr.	0	0	0.00	0	0	0.00	0	0	0.00
45	Navi Mumbai	0	0	0.00	0	0	0.00	1	1	0.05
46	Amravati Commr.	0	0	0.00	0	0	0.00	0	0	0.00
	Total Commrs.	**0**	**0**	**0.00**	**0**	**0**	**0.00**	**4**	**4**	**0.01**
	Total of M.S	**0**	**0**	**0.00**	**0**	**0**	**0.00**	**5**	**5**	**0.00**

तक्ता क्र. १२(चालू)

Table No- 12 (Continued)

Sr.No.	Unit	Environmental Protection Act,			Air (Prevention & Control Of Pollution) Act			Water (Prevention & Control Of Pollution) Act		
		I	V	R	I	V	R	I	V	R
1	2	120	121	122	123	124	125	126	127	128
1	Akola	0	0	0.00	0	0	0.00	0	0	0.00
2	Amravati Rural	0	0	0.00	0	0	0.00	0	0	0.00
3	Buldhana	0	0	0.00	0	0	0.00	0	0	0.00
4	Yavatmal	0	0	0.00	0	0	0.00	0	0	0.00
5	Washim	0	0	0.00	0	0	0.00	0	0	0.00
*	**Amravati Range**	**0**	**0**	**0.00**	**0**	**0**	**0.00**	**0**	**0**	**0.00**
6	Aurangabad Rural	0	0	0.00	0	0	0.00	0	0	0.00
7	Jalna	0	0	0.00	0	0	0.00	0	0	0.00
8	Beed	0	0	0.00	0	0	0.00	0	0	0.00
9	Osmanabad	0	0	0.00	0	0	0.00	0	0	0.00
*	**Aurangabad Range**	**0**	**0**	**0.00**	**0**	**0**	**0.00**	**0**	**0**	**0.00**
10	Nanded	0	0	0.00	0	0	0.00	0	0	0.00
11	Latur	0	0	0.00	0	0	0.00	0	0	0.00
12	Parbhani	0	0	0.00	0	0	0.00	0	0	0.00
13	Hingoli	20	0	1.58	0	0	0.00	0	0	0.00
*	**Nanded Range**	**20**	**0**	**0.21**	**0**	**0**	**0.00**	**0**	**0**	**0.00**
14	Kolhapur	6	0	0.15	0	0	0.00	0	0	0.00
15	Pune Rural	0	0	0.00	0	0	0.00	0	0	0.00
16	Sangli	0	0	0.00	5	0	0.17	0	0	0.00
17	Satara	0	0	0.00	0	0	0.00	0	0	0.00
18	Solapur Rural	0	0	0.00	0	0	0.00	0	0	0.00
*	**Kolhapur Range**	**6**	**0**	**0.03**	**5**	**0**	**0.03**	**0**	**0**	**0.00**
19	Bhandara	0	0	0.00	0	0	0.00	0	0	0.00
20	Chandrapur	0	0	0.00	0	0	0.00	0	0	0.00
21	Nagpur Rural	0	0	0.00	0	0	0.00	0	0	0.00
22	Wardha	0	0	0.00	0	0	0.00	0	0	0.00
*	**Nagpur Range**	**0**	**0**	**0.00**	**0**	**0**	**0.00**	**0**	**0**	**0.00**
23	Gadchiroli	0	0	0.00	0	0	0.00	0	0	0.00
24	Gondia	0	0	0.00	0	0	0.00	0	0	0.00
*	**Gadchiroli Range**	**0**	**0**	**0.00**	**0**	**0**	**0.00**	**0**	**0**	**0.00**
25	Ahmednagar	0	0	0.00	23	0	0.48	0	0	0.00
26	Dhule	0	0	0.00	0	0	0.00	0	0	0.00
27	Jalgaon	0	0	0.00	1	16	0.02	0	0	0.00
28	Nasik Rural	0	0	0.00	0	0	0.00	0	0	0.00
29	Nandurbar	0	0	0.00	0	0	0.00	0	0	0.00
*	**Nasik Range**	**0**	**0**	**0.00**	**24**	**16**	**0.13**	**0**	**0**	**0.00**
30	Raigad	3	3	0.16	0	0	0.00	1	1	0.05
31	Ratnagiri	0	0	0.00	0	0	0.00	0	0	0.00
32	Sindhudurg	0	0	0.00	0	0	0.00	0	0	0.00
33	Thane Rural	0	0	0.00	0	0	0.00	0	0	0.00
34	Palghar	0	0	0.00	0	0	0.00	0	0	0.00
*	**Thane Range**	**3**	**3**	**0.03**	**0**	**0**	**0.00**	**1**	**1**	**0.01**
35	Mumbai Railway	0	0		0	0		0	0	
36	Pune Railway	0	0		0	0		0	0	
37	Nagpur Railway	0	0		0	0		0	0	
*	**Railway Range**	**0**	**0**		**0**	**0**		**0**	**0**	
38	Nagpur Commr.	0	0	0.00	0	0	0.00	0	0	0.00
39	Pune Commr.	0	0	0.00	0	0	0.00	0	0	0.00
40	Thane Commr.	2	0	0.04	0	0	0.00	0	0	0.00
41	Mumbai Commr.	13	13	0.10	0	0	0.00	0	0	0.00
42	Nasik Commr.	0	0	0.00	0	0	0.00	0	0	0.00
43	Aurangabad Commr.	0	0	0.00	0	0	0.00	0	0	0.00
44	Solapur Commr.	0	0	0.00	0	0	0.00	0	0	0.00
45	Navi Mumbai	2	2	0.09	0	0	0.00	0	0	0.00
46	Amravati Commr.	0	0	0.00	13	13	1.51	0	0	0.00
	Total Commrs.	**17**	**15**	**0.05**	**13**	**13**	**0.04**	**0**	**0**	**0.00**
	Total of M.S	**46**	**18**	**0.04**	**42**	**29**	**0.04**	**1**	**1**	**0.00**

तक्ता क्र. १२(चालू)

Table No- 12 (Continued)

Sr.No.	Unit	National Security Act			Unlawful Activities (Prevention) Act			Young Persons (Harmful Publications) Act		
		I	V	R	I	V	R	I	V	R
1	2	129	130	131	132	133	134	135	136	137
1	Akola	0	0	0.00	0	0	0.00	0	0	0.00
2	Amravati Rural	0	0	0.00	0	0	0.00	0	0	0.00
3	Buldhana	0	0	0.00	0	0	0.00	0	0	0.00
4	Yavatmal	0	0	0.00	0	0	0.00	0	0	0.00
5	Washim	0	0	0.00	0	0	0.00	0	0	0.00
*	**Amravati Range**	**0**	**0**	**0.00**	**0**	**0**	**0.00**	**0**	**0**	**0.00**
6	Aurangabad Rural	0	0	0.00	0	0	0.00	0	0	0.00
7	Jalna	0	0	0.00	0	0	0.00	0	0	0.00
8	Beed	0	0	0.00	0	0	0.00	0	0	0.00
9	Osmanabad	0	0	0.00	0	0	0.00	0	0	0.00
*	**Aurangabad Range**	**0**	**0**	**0.00**	**0**	**0**	**0.00**	**0**	**0**	**0.00**
10	Nanded	0	0	0.00	0	0	0.00	0	0	0.00
11	Latur	0	0	0.00	0	0	0.00	0	0	0.00
12	Parbhani	0	0	0.00	0	0	0.00	0	0	0.00
13	Hingoli	0	0	0.00	0	0	0.00	0	0	0.00
*	**Nanded Range**	**0**	**0**	**0.00**	**0**	**0**	**0.00**	**0**	**0**	**0.00**
14	Kolhapur	0	0	0.00	0	0	0.00	0	0	0.00
15	Pune Rural	0	0	0.00	0	0	0.00	0	0	0.00
16	Sangli	0	0	0.00	0	0	0.00	0	0	0.00
17	Satara	0	0	0.00	0	0	0.00	0	0	0.00
18	Solapur Rural	0	0	0.00	0	0	0.00	0	0	0.00
*	**Kolhapur Range**	**0**	**0**	**0.00**	**0**	**0**	**0.00**	**0**	**0**	**0.00**
19	Bhandara	0	0	0.00	0	0	0.00	0	0	0.00
20	Chandrapur	0	0	0.00	0	0	0.00	0	0	0.00
21	Nagpur Rural	0	0	0.00	0	0	0.00	0	0	0.00
22	Wardha	0	0	0.00	0	0	0.00	0	0	0.00
*	**Nagpur Range**	**0**	**0**	**0.00**	**0**	**0**	**0.00**	**0**	**0**	**0.00**
23	Gadchiroli	0	0	0.00	1	1	0.09	0	0	0.00
24	Gondia	0	0	0.00	0	0	0.00	0	0	0.00
*	**Gadchiroli Range**	**0**	**0**	**0.00**	**1**	**1**	**0.04**	**0**	**0**	**0.00**
25	Ahmednagar	0	0	0.00	0	0	0.00	0	0	0.00
26	Dhule	0	0	0.00	0	0	0.00	0	0	0.00
27	Jalgaon	0	0	0.00	0	0	0.00	0	0	0.00
28	Nasik Rural	0	0	0.00	0	0	0.00	0	0	0.00
29	Nandurbar	0	0	0.00	0	0	0.00	0	0	0.00
*	**Nasik Range**	**0**	**0**	**0.00**	**0**	**0**	**0.00**	**0**	**0**	**0.00**
30	Raigad	0	0	0.00	0	0	0.00	0	0	0.00
31	Ratnagiri	0	0	0.00	0	0	0.00	0	0	0.00
32	Sindhudurg	0	0	0.00	0	0	0.00	0	0	0.00
33	Thane Rural	0	0	0.00	0	0	0.00	0	0	0.00
34	Palghar	0	0	0.00	0	0	0.00	0	0	0.00
*	**Thane Range**	**0**	**0**	**0.00**	**0**	**0**	**0.00**	**0**	**0**	**0.00**
35	Mumbai Railway	0	0		0	0		0	0	
36	Pune Railway	0	0		0	0		0	0	
37	Nagpur Railway	0	0		0	0		0	0	
*	**Railway Range**	**0**	**0**		**0**	**0**		**0**	**0**	
38	Nagpur Commr.	0	0	0.00	0	0	0.00	0	0	0.00
39	Pune Commr.	0	0	0.00	0	0	0.00	0	0	0.00
40	Thane Commr.	0	0	0.00	0	0	0.00	0	0	0.00
41	Mumbai Commr.	1	0	0.01	0	0	0.00	0	0	0.00
42	Nasik Commr.	0	0	0.00	0	0	0.00	0	0	0.00
43	Aurangabad Commr.	0	0	0.00	0	0	0.00	0	0	0.00
44	Solapur Commr.	0	0	0.00	0	0	0.00	0	0	0.00
45	Navi Mumbai	0	0	0.00	0	0	0.00	0	0	0.00
46	Amravati Commr.	0	0	0.00	0	0	0.00	0	0	0.00
	Total Commrs.	**1**	**0**	**0.00**	**0**	**0**	**0.00**	**0**	**0**	**0.00**
	Total of M.S	**1**	**0**	**0.00**	**1**	**1**	**0.00**	**0**	**0**	**0.00**

तक्ता क्र. १२(चालू)

Table No- 12 (Continued)

Sr.No.	Unit	Railway Property (Unlawful Possession) Act			Prevention Of Damage To Public Property Act			Transplantation Of Human Organs Act		
		I	V	R	I	V	R	I	V	R
1	2	138	139	140	141	142	143	144	145	146
1	Akola	0	0	0.00	6	6	0.31	0	0	0.00
2	Amravati Rural	0	0	0.00	0	0	0.00	0	0	0.00
3	Buldhana	0	0	0.00	0	0	0.00	0	0	0.00
4	Yavatmal	0	0	0.00	5	5	0.17	0	0	0.00
5	Washim	0	0	0.00	0	0	0.00	0	0	0.00
*	**Amravati Range**	**0**	**0**	**0.00**	**11**	**11**	**0.10**	**0**	**0**	**0.00**
6	Aurangabad Rural	0	0	0.00	0	0	0.00	0	0	0.00
7	Jalna	0	0	0.00	0	0	0.00	0	0	0.00
8	Beed	0	0	0.00	6	0	0.22	0	0	0.00
9	Osmanabad	0	0	0.00	4	0	0.23	0	0	0.00
*	**Aurangabad Range**	**0**	**0**	**0.00**	**10**	**0**	**0.11**	**0**	**0**	**0.00**
10	Nanded	0	0	0.00	7	7	0.19	0	0	0.00
11	Latur	0	0	0.00	0	0	0.00	0	0	0.00
12	Parbhani	0	0	0.00	0	0	0.00	0	0	0.00
13	Hingoli	0	0	0.00	0	0	0.00	0	0	0.00
*	**Nanded Range**	**0**	**0**	**0.00**	**7**	**7**	**0.07**	**0**	**0**	**0.00**
14	Kolhapur	0	0	0.00	2	3	0.05	0	0	0.00
15	Pune Rural	0	0	0.00	9	9	0.20	0	0	0.00
16	Sangli	0	0	0.00	3	3	0.10	0	0	0.00
17	Satara	0	0	0.00	5	0	0.16	0	0	0.00
18	Solapur Rural	0	0	0.00	0	0	0.00	0	0	0.00
*	**Kolhapur Range**	**0**	**0**	**0.00**	**19**	**15**	**0.10**	**0**	**0**	**0.00**
19	Bhandara	0	0	0.00	0	0	0.00	0	0	0.00
20	Chandrapur	0	0	0.00	3	0	0.13	0	0	0.00
21	Nagpur Rural	0	0	0.00	5	5	0.22	0	0	0.00
22	Wardha	0	0	0.00	0	0	0.00	0	0	0.00
*	**Nagpur Range**	**0**	**0**	**0.00**	**8**	**5**	**0.11**	**0**	**0**	**0.00**
23	Gadchiroli	0	0	0.00	0	0	0.00	0	0	0.00
24	Gondia	0	0	0.00	0	0	0.00	0	0	0.00
*	**Gadchiroli Range**	**0**	**0**	**0.00**	**0**	**0**	**0.00**	**0**	**0**	**0.00**
25	Ahmednagar	0	0	0.00	0	0	0.00	0	0	0.00
26	Dhule	0	0	0.00	0	0	0.00	0	0	0.00
27	Jalgaon	0	0	0.00	2	3	0.04	0	0	0.00
28	Nasik Rural	0	0	0.00	1	0	0.02	0	0	0.00
29	Nandurbar	0	0	0.00	1	1	0.06	0	0	0.00
*	**Nasik Range**	**0**	**0**	**0.00**	**4**	**4**	**0.02**	**0**	**0**	**0.00**
30	Raigad	0	0	0.00	2	2	0.11	0	0	0.00
31	Ratnagiri	0	0	0.00	0	0	0.00	0	0	0.00
32	Sindhudurg	0	0	0.00	0	0	0.00	0	0	0.00
33	Thane Rural	0	0	0.00	0	0	0.00	0	0	0.00
34	Palghar	0	0	0.00	0	0	0.00	0	0	0.00
*	**Thane Range**	**0**	**0**	**0.00**	**2**	**2**	**0.02**	**0**	**0**	**0.00**
35	Mumbai Railway	0	0		0	0		0	0	
36	Pune Railway	0	0		0	0		0	0	
37	Nagpur Railway	0	0		0	0		0	0	
*	**Railway Range**	**0**	**0**		**0**	**0**		**0**	**0**	
38	Nagpur Commr.	0	0	0.00	6	6	0.22	0	0	0.00
39	Pune Commr.	0	0	0.00	41	17	0.71	0	0	0.00
40	Thane Commr.	0	0	0.00	0	0	0.00	0	0	0.00
41	Mumbai Commr.	0	0	0.00	19	19	0.15	0	0	0.00
42	Nasik Commr.	0	0	0.00	22	22	1.26	0	0	0.00
43	Aurangabad Commr.	0	0	0.00	2	2	0.12	0	0	0.00
44	Solapur Commr.	0	0	0.00	0	0	0.00	0	0	0.00
45	Navi Mumbai	0	0	0.00	1	1	0.05	0	0	0.00
46	Amravati Commr.	0	0	0.00	7	7	0.81	0	0	0.00
	Total Commrs.	**0**	**0**	**0.00**	**98**	**74**	**0.29**	**0**	**0**	**0.00**
	Total of M.S	**0**	**0**	**0.00**	**159**	**118**	**0.13**	**0**	**0**	**0.00**

तक्ता क्र. १२(चालू)

Table No- 12 (Continued)

Sr.No.	Unit	Trade Marks Act			Prevention Of Insults To National Honour Act			State Emblem Of India (Prohibition Of Improper Use) Act		
		I	V	R	I	V	R	I	V	R
1	2	147	148	149	150	151	152	153	154	155
1	Akola	0	0	0.00	0	0	0.00	0	0	0.00
2	Amravati Rural	0	0	0.00	0	0	0.00	0	0	0.00
3	Buldhana	1	0	0.04	0	0	0.00	0	0	0.00
4	Yavatmal	0	0	0.00	0	0	0.00	0	0	0.00
5	Washim	0	0	0.00	1	0	0.08	0	0	0.00
*	**Amravati Range**	**1**	**0**	**0.01**	**1**	**0**	**0.01**	**0**	**0**	**0.00**
6	Aurangabad Rural	0	0	0.00	0	0	0.00	0	0	0.00
7	Jalna	0	0	0.00	0	0	0.00	0	0	0.00
8	Beed	0	0	0.00	0	0	0.00	0	0	0.00
9	Osmanabad	0	0	0.00	0	0	0.00	0	0	0.00
*	**Aurangabad Range**	**0**	**0**	**0.00**	**0**	**0**	**0.00**	**0**	**0**	**0.00**
10	Nanded	0	0	0.00	0	0	0.00	0	0	0.00
11	Latur	0	0	0.00	0	0	0.00	0	0	0.00
12	Parbhani	0	0	0.00	0	0	0.00	0	0	0.00
13	Hingoli	0	0	0.00	0	0	0.00	0	0	0.00
*	**Nanded Range**	**0**	**0**	**0.00**	**0**	**0**	**0.00**	**0**	**0**	**0.00**
14	Kolhapur	0	0	0.00	0	0	0.00	0	0	0.00
15	Pune Rural	0	0	0.00	2	0	0.04	0	0	0.00
16	Sangli	0	0	0.00	0	0	0.00	0	0	0.00
17	Satara	0	0	0.00	3	0	0.09	0	0	0.00
18	Solapur Rural	0	0	0.00	0	0	0.00	0	0	0.00
*	**Kolhapur Range**	**0**	**0**	**0.00**	**5**	**0**	**0.03**	**0**	**0**	**0.00**
19	Bhandara	0	0	0.00	1	0	0.08	0	0	0.00
20	Chandrapur	0	0	0.00	0	0	0.00	0	0	0.00
21	Nagpur Rural	0	0	0.00	0	0	0.00	0	0	0.00
22	Wardha	0	0	0.00	0	0	0.00	0	0	0.00
*	**Nagpur Range**	**0**	**0**	**0.00**	**1**	**0**	**0.01**	**0**	**0**	**0.00**
23	Gadchiroli	0	0	0.00	0	0	0.00	0	0	0.00
24	Gondia	0	0	0.00	0	0	0.00	0	0	0.00
*	**Gadchiroli Range**	**0**	**0**	**0.00**	**0**	**0**	**0.00**	**0**	**0**	**0.00**
25	Ahmednagar	0	0	0.00	0	0	0.00	0	0	0.00
26	Dhule	0	0	0.00	0	0	0.00	0	0	0.00
27	Jalgaon	0	0	0.00	0	0	0.00	0	0	0.00
28	Nasik Rural	0	0	0.00	0	0	0.00	0	0	0.00
29	Nandurbar	0	0	0.00	0	0	0.00	0	0	0.00
*	**Nasik Range**	**0**	**0**	**0.00**	**0**	**0**	**0.00**	**0**	**0**	**0.00**
30	Raigad	0	0	0.00	1	1	0.05	0	0	0.00
31	Ratnagiri	0	0	0.00	0	0	0.00	0	0	0.00
32	Sindhudurg	0	0	0.00	0	0	0.00	0	0	0.00
33	Thane Rural	0	0	0.00	0	0	0.00	0	0	0.00
34	Palghar	0	0	0.00	0	0	0.00	0	0	0.00
*	**Thane Range**	**0**	**0**	**0.00**	**1**	**1**	**0.01**	**0**	**0**	**0.00**
35	Mumbai Railway	0	0		0	0		0	0	
36	Pune Railway	0	0		0	0		0	0	
37	Nagpur Railway	0	0		0	0		0	0	
*	**Railway Range**	**0**	**0**		**0**	**0**		**0**	**0**	
38	Nagpur Commr.	0	0	0.00	0	0	0.00	0	0	0.00
39	Pune Commr.	0	0	0.00	0	0	0.00	0	0	0.00
40	Thane Commr.	0	0	0.00	1	0	0.02	0	0	0.00
41	Mumbai Commr.	1	0	0.01	2	1	0.02	1	1	0.01
42	Nasik Commr.	0	0	0.00	0	0	0.00	0	0	0.00
43	Aurangabad Commr.	0	0	0.00	0	0	0.00	0	0	0.00
44	Solapur Commr.	0	0	0.00	0	0	0.00	0	0	0.00
45	Navi Mumbai	1	1	0.05	0	0	0.00	0	0	0.00
46	Amravati Commr.	0	0	0.00	0	0	0.00	0	0	0.00
	Total Commrs.	**2**	**1**	**0.01**	**3**	**1**	**0.01**	**1**	**1**	**0.00**
	Total of M.S	**3**	**1**	**0.00**	**11**	**2**	**0.01**	**1**	**1**	**0.00**

तक्ता क्र. १२(चालू)

Table No- 12 (Continued)

Sr.No.	Unit	Lotteries (Regulation) Act			Citizenship Act			Foreigners Act		
		I	V	R	I	V	R	I	V	R
1	2	156	157	158	159	160	161	162	163	164
1	Akola	0	0	0.00	0	0	0.00	0	0	0.00
2	Amravati Rural	0	0	0.00	0	0	0.00	0	0	0.00
3	Buldhana	0	0	0.00	0	0	0.00	0	0	0.00
4	Yavatmal	0	0	0.00	0	0	0.00	0	0	0.00
5	Washim	0	0	0.00	0	0	0.00	0	0	0.00
*	**Amravati Range**	**0**	**0**	**0.00**	**0**	**0**	**0.00**	**0**	**0**	**0.00**
6	Aurangabad Rural	0	0	0.00	0	0	0.00	0	0	0.00
7	Jalna	0	0	0.00	0	0	0.00	0	0	0.00
8	Beed	0	0	0.00	0	0	0.00	0	0	0.00
9	Osmanabad	0	0	0.00	0	0	0.00	0	0	0.00
*	**Aurangabad Range**	**0**	**0**	**0.00**	**0**	**0**	**0.00**	**0**	**0**	**0.00**
10	Nanded	0	0	0.00	0	0	0.00	0	0	0.00
11	Latur	0	0	0.00	0	0	0.00	0	0	0.00
12	Parbhani	0	0	0.00	0	0	0.00	0	0	0.00
13	Hingoli	0	0	0.00	0	0	0.00	0	0	0.00
*	**Nanded Range**	**0**	**0**	**0.00**	**0**	**0**	**0.00**	**0**	**0**	**0.00**
14	Kolhapur	0	0	0.00	0	0	0.00	0	0	0.00
15	Pune Rural	0	0	0.00	0	0	0.00	0	0	0.00
16	Sangli	0	0	0.00	0	0	0.00	0	0	0.00
17	Satara	0	0	0.00	0	0	0.00	0	0	0.00
18	Solapur Rural	0	0	0.00	0	0	0.00	0	0	0.00
*	**Kolhapur Range**	**0**	**0**	**0.00**	**0**	**0**	**0.00**	**0**	**0**	**0.00**
19	Bhandara	0	0	0.00	0	0	0.00	0	0	0.00
20	Chandrapur	0	0	0.00	0	0	0.00	0	0	0.00
21	Nagpur Rural	0	0	0.00	0	0	0.00	0	0	0.00
22	Wardha	0	0	0.00	0	0	0.00	0	0	0.00
*	**Nagpur Range**	**0**	**0**	**0.00**	**0**	**0**	**0.00**	**0**	**0**	**0.00**
23	Gadchiroli	0	0	0.00	0	0	0.00	0	0	0.00
24	Gondia	0	0	0.00	0	0	0.00	0	0	0.00
*	**Gadchiroli Range**	**0**	**0**	**0.00**	**0**	**0**	**0.00**	**0**	**0**	**0.00**
25	Ahmednagar	0	0	0.00	0	0	0.00	0	0	0.00
26	Dhule	0	0	0.00	0	0	0.00	0	0	0.00
27	Jalgaon	0	0	0.00	0	0	0.00	0	0	0.00
28	Nasik Rural	0	0	0.00	0	0	0.00	1	0	0.02
29	Nandurbar	0	0	0.00	0	0	0.00	0	0	0.00
*	**Nasik Range**	**0**	**0**	**0.00**	**0**	**0**	**0.00**	**1**	**0**	**0.01**
30	Raigad	0	0	0.00	0	0	0.00	0	0	0.00
31	Ratnagiri	0	0	0.00	0	0	0.00	1	1	0.06
32	Sindhudurg	0	0	0.00	0	0	0.00	0	0	0.00
33	Thane Rural	0	0	0.00	0	0	0.00	0	0	0.00
34	Palghar	0	0	0.00	0	0	0.00	0	0	0.00
*	**Thane Range**	**0**	**0**	**0.00**	**0**	**0**	**0.00**	**1**	**1**	**0.01**
35	Mumbai Railway	0	0		0	0		0	0	
36	Pune Railway	0	0		0	0		0	0	
37	Nagpur Railway	0	0		0	0		0	0	
*	**Railway Range**	**0**	**0**		**0**	**0**		**0**	**0**	
38	Nagpur Commr.	0	0	0.00	0	0	0.00	0	0	0.00
39	Pune Commr.	0	0	0.00	0	0	0.00	3	3	0.05
40	Thane Commr.	0	0	0.00	0	0	0.00	0	0	0.00
41	Mumbai Commr.	14	12	0.11	0	0	0.00	13	13	0.10
42	Nasik Commr.	0	0	0.00	0	0	0.00	0	0	0.00
43	Aurangabad Commr.	2	0	0.12	0	0	0.00	0	0	0.00
44	Solapur Commr.	0	0	0.00	0	0	0.00	0	0	0.00
45	Navi Mumbai	1	1	0.05	0	0	0.00	0	0	0.00
46	Amravati Commr.	0	0	0.00	0	0	0.00	0	0	0.00
	Total Commrs.	**17**	**13**	**0.05**	**0**	**0**	**0.00**	**16**	**16**	**0.05**
	Total of M.S	**17**	**13**	**0.01**	**0**	**0**	**0.00**	**18**	**17**	**0.02**

तक्ता क्र. १२(चालू)

Table No- 12 (Continued)

Sr.No.	Unit	Place Of Worship (Special Provisions) Act			Religious Institution (Prevention Of Misuse) Act			Representation of the People Act		
		I	V	R	I	V	R	I	V	R
1	2	165	166	167	168	169	170	171	172	173
1	Akola	0	0	0.00	0	0	0.00	0	0	0.00
2	Amravati Rural	0	0	0.00	0	0	0.00	0	0	0.00
3	Buldhana	0	0	0.00	0	0	0.00	0	0	0.00
4	Yavatmal	0	0	0.00	0	0	0.00	0	0	0.00
5	Washim	0	0	0.00	0	0	0.00	0	0	0.00
*	**Amravati Range**	**0**	**0**	**0.00**	**0**	**0**	**0.00**	**0**	**0**	**0.00**
6	Aurangabad Rural	0	0	0.00	0	0	0.00	0	0	0.00
7	Jalna	0	0	0.00	0	0	0.00	0	0	0.00
8	Beed	0	0	0.00	0	0	0.00	0	0	0.00
9	Osmanabad	0	0	0.00	0	0	0.00	0	0	0.00
*	**Aurangabad Range**	**0**	**0**	**0.00**	**0**	**0**	**0.00**	**0**	**0**	**0.00**
10	Nanded	0	0	0.00	0	0	0.00	0	0	0.00
11	Latur	0	0	0.00	0	0	0.00	0	0	0.00
12	Parbhani	0	0	0.00	0	0	0.00	5	0	0.25
13	Hingoli	0	0	0.00	0	0	0.00	0	0	0.00
*	**Nanded Range**	**0**	**0**	**0.00**	**0**	**0**	**0.00**	**5**	**0**	**0.05**
14	Kolhapur	0	0	0.00	0	0	0.00	3	1	0.07
15	Pune Rural	0	0	0.00	0	0	0.00	0	0	0.00
16	Sangli	0	0	0.00	0	0	0.00	3	3	0.10
17	Satara	0	0	0.00	0	0	0.00	0	0	0.00
18	Solapur Rural	0	0	0.00	0	0	0.00	0	0	0.00
*	**Kolhapur Range**	**0**	**0**	**0.00**	**0**	**0**	**0.00**	**6**	**4**	**0.03**
19	Bhandara	0	0	0.00	0	0	0.00	0	0	0.00
20	Chandrapur	0	0	0.00	0	0	0.00	0	0	0.00
21	Nagpur Rural	0	0	0.00	0	0	0.00	0	0	0.00
22	Wardha	0	0	0.00	0	0	0.00	0	0	0.00
*	**Nagpur Range**	**0**	**0**	**0.00**	**0**	**0**	**0.00**	**0**	**0**	**0.00**
23	Gadchiroli	0	0	0.00	0	0	0.00	0	0	0.00
24	Gondia	0	0	0.00	0	0	0.00	0	0	0.00
*	**Gadchiroli Range**	**0**	**0**	**0.00**	**0**	**0**	**0.00**	**0**	**0**	**0.00**
25	Ahmednagar	0	0	0.00	0	0	0.00	0	0	0.00
26	Dhule	0	0	0.00	0	0	0.00	0	0	0.00
27	Jalgaon	0	0	0.00	0	0	0.00	2	2	0.04
28	Nasik Rural	0	0	0.00	0	0	0.00	0	0	0.00
29	Nandurbar	0	0	0.00	0	0	0.00	0	0	0.00
*	**Nasik Range**	**0**	**0**	**0.00**	**0**	**0**	**0.00**	**2**	**2**	**0.01**
30	Raigad	0	0	0.00	0	0	0.00	0	0	0.00
31	Ratnagiri	0	0	0.00	0	0	0.00	0	0	0.00
32	Sindhudurg	0	0	0.00	0	0	0.00	0	0	0.00
33	Thane Rural	0	0	0.00	0	0	0.00	0	0	0.00
34	Palghar	0	0	0.00	0	0	0.00	0	0	0.00
*	**Thane Range**	**0**	**0**	**0.00**	**0**	**0**	**0.00**	**0**	**0**	**0.00**
35	Mumbai Railway	0	0		0	0		0	0	
36	Pune Railway	0	0		0	0		0	0	
37	Nagpur Railway	0	0		0	0		0	0	
*	**Railway Range**	**0**	**0**		**0**	**0**		**0**	**0**	
38	Nagpur Commr.	0	0	0.00	0	0	0.00	0	0	0.00
39	Pune Commr.	0	0	0.00	0	0	0.00	0	0	0.00
40	Thane Commr.	0	0	0.00	0	0	0.00	0	0	0.00
41	Mumbai Commr.	0	0	0.00	0	0	0.00	0	0	0.00
42	Nasik Commr.	0	0	0.00	0	0	0.00	0	0	0.00
43	Aurangabad Commr.	0	0	0.00	0	0	0.00	7	0	0.44
44	Solapur Commr.	0	0	0.00	0	0	0.00	0	0	0.00
45	Navi Mumbai	0	0	0.00	0	0	0.00	0	0	0.00
46	Amravati Commr.	0	0	0.00	0	0	0.00	0	0	0.00
	Total Commrs.	**0**	**0**	**0.00**	**0**	**0**	**0.00**	**7**	**0**	**0.02**
	Total of M.S	**0**	**0**	**0.00**	**0**	**0**	**0.00**	**20**	**6**	**0.02**

तक्ता क्र. १२(चालू)

Table No- 12 (Continued)

Sr.No.	Unit	Emigration Act			Juvenile Justice (Care And Protection Of Children) Act			Infant Milk Substitutes, Feeding Bottles And Infant Foods (Regulation Of Production, Supply And Distribution) Amendment Act		
		I	V	R	I	V	R	I	V	R
1	2	174	175	176	177	178	179	180	181	182
1	Akola	0	0	0.00	2	4	0.10	0	0	0.00
2	Amravati Rural	0	0	0.00	0	0	0.00	0	0	0.00
3	Buldhana	0	0	0.00	0	0	0.00	0	0	0.00
4	Yavatmal	0	0	0.00	0	0	0.00	0	0	0.00
5	Washim	0	0	0.00	0	0	0.00	0	0	0.00
*	**Amravati Range**	**0**	**0**	**0.00**	**2**	**4**	**0.02**	**0**	**0**	**0.00**
6	Aurangabad Rural	0	0	0.00	0	0	0.00	0	0	0.00
7	Jalna	0	0	0.00	0	0	0.00	0	0	0.00
8	Beed	0	0	0.00	0	0	0.00	0	0	0.00
9	Osmanabad	0	0	0.00	0	0	0.00	0	0	0.00
*	**Aurangabad Range**	**0**	**0**	**0.00**	**0**	**0**	**0.00**	**0**	**0**	**0.00**
10	Nanded	0	0	0.00	0	0	0.00	0	0	0.00
11	Latur	0	0	0.00	0	0	0.00	0	0	0.00
12	Parbhani	0	0	0.00	0	0	0.00	0	0	0.00
13	Hingoli	0	0	0.00	0	0	0.00	0	0	0.00
*	**Nanded Range**	**0**	**0**	**0.00**	**0**	**0**	**0.00**	**0**	**0**	**0.00**
14	Kolhapur	0	0	0.00	0	0	0.00	0	0	0.00
15	Pune Rural	0	0	0.00	0	0	0.00	0	0	0.00
16	Sangli	0	0	0.00	0	0	0.00	0	0	0.00
17	Satara	0	0	0.00	0	0	0.00	0	0	0.00
18	Solapur Rural	0	0	0.00	0	0	0.00	0	0	0.00
*	**Kolhapur Range**	**0**	**0**	**0.00**	**0**	**0**	**0.00**	**0**	**0**	**0.00**
19	Bhandara	0	0	0.00	0	0	0.00	0	0	0.00
20	Chandrapur	0	0	0.00	3	3	0.13	0	0	0.00
21	Nagpur Rural	0	0	0.00	0	0	0.00	0	0	0.00
22	Wardha	0	0	0.00	0	0	0.00	0	0	0.00
*	**Nagpur Range**	**0**	**0**	**0.00**	**3**	**3**	**0.04**	**0**	**0**	**0.00**
23	Gadchiroli	0	0	0.00	0	0	0.00	0	0	0.00
24	Gondia	0	0	0.00	0	0	0.00	0	0	0.00
*	**Gadchiroli Range**	**0**	**0**	**0.00**	**0**	**0**	**0.00**	**0**	**0**	**0.00**
25	Ahmednagar	0	0	0.00	0	0	0.00	0	0	0.00
26	Dhule	0	0	0.00	0	0	0.00	0	0	0.00
27	Jalgaon	0	0	0.00	0	0	0.00	0	0	0.00
28	Nasik Rural	0	0	0.00	0	0	0.00	0	0	0.00
29	Nandurbar	0	0	0.00	0	0	0.00	0	0	0.00
*	**Nasik Range**	**0**	**0**	**0.00**	**0**	**0**	**0.00**	**0**	**0**	**0.00**
30	Raigad	0	0	0.00	0	0	0.00	0	0	0.00
31	Ratnagiri	0	0	0.00	0	0	0.00	0	0	0.00
32	Sindhudurg	0	0	0.00	0	0	0.00	0	0	0.00
33	Thane Rural	0	0	0.00	0	0	0.00	0	0	0.00
34	Palghar	0	0	0.00	0	0	0.00	0	0	0.00
*	**Thane Range**	**0**	**0**	**0.00**	**0**	**0**	**0.00**	**0**	**0**	**0.00**
35	Mumbai Railway	0	0		0	0		0	0	
36	Pune Railway	0	0		0	0		0	0	
37	Nagpur Railway	0	0		0	0		0	0	
*	**Railway Range**	**0**	**0**		**0**	**0**		**0**	**0**	
38	Nagpur Commr.	0	0	0.00	3	3	0.11	0	0	0.00
39	Pune Commr.	0	0	0.00	5	5	0.09	0	0	0.00
40	Thane Commr.	0	0	0.00	0	0	0.00	0	0	0.00
41	Mumbai Commr.	0	0	0.00	231	293	1.83	0	0	0.00
42	Nasik Commr.	0	0	0.00	6	19	0.34	0	0	0.00
43	Aurangabad Commr.	0	0	0.00	0	0	0.00	0	0	0.00
44	Solapur Commr.	0	0	0.00	0	0	0.00	0	0	0.00
45	Navi Mumbai	0	0	0.00	1	1	0.05	0	0	0.00
46	Amravati Commr.	0	0	0.00	0	0	0.00	0	0	0.00
	Total Commrs.	**0**	**0**	**0.00**	**246**	**321**	**0.73**	**0**	**0**	**0.00**
	Total of M.S	**0**	**0**	**0.00**	**251**	**328**	**0.21**	**0**	**0**	**0.00**

तक्ता क्र. १२(चालू)

Table No- 12 (Continued)

Sr.No.	Unit	Anti Hijacking Act			Atomic Energy Act			Weapons Of Mass Destruction And Their Delivery Systems (Prohibition Of Unlawful Activities) Act		
		I	V	R	I	V	R	I	V	R
1	2	183	184	185	186	187	188	189	190	191
1	Akola	0	0	0.00	0	0	0.00	0	0	0.00
2	Amravati Rural	0	0	0.00	0	0	0.00	0	0	0.00
3	Buldhana	0	0	0.00	0	0	0.00	0	0	0.00
4	Yavatmal	0	0	0.00	0	0	0.00	0	0	0.00
5	Washim	0	0	0.00	0	0	0.00	0	0	0.00
*	**Amravati Range**	**0**	**0**	**0.00**	**0**	**0**	**0.00**	**0**	**0**	**0.00**
6	Aurangabad Rural	0	0	0.00	0	0	0.00	0	0	0.00
7	Jalna	0	0	0.00	0	0	0.00	0	0	0.00
8	Beed	0	0	0.00	0	0	0.00	0	0	0.00
9	Osmanabad	0	0	0.00	0	0	0.00	0	0	0.00
*	**Aurangabad Range**	**0**	**0**	**0.00**	**0**	**0**	**0.00**	**0**	**0**	**0.00**
10	Nanded	0	0	0.00	0	0	0.00	0	0	0.00
11	Latur	0	0	0.00	0	0	0.00	0	0	0.00
12	Parbhani	0	0	0.00	0	0	0.00	0	0	0.00
13	Hingoli	0	0	0.00	0	0	0.00	0	0	0.00
*	**Nanded Range**	**0**	**0**	**0.00**	**0**	**0**	**0.00**	**0**	**0**	**0.00**
14	Kolhapur	0	0	0.00	0	0	0.00	0	0	0.00
15	Pune Rural	0	0	0.00	0	0	0.00	0	0	0.00
16	Sangli	0	0	0.00	0	0	0.00	0	0	0.00
17	Satara	0	0	0.00	0	0	0.00	0	0	0.00
18	Solapur Rural	0	0	0.00	0	0	0.00	0	0	0.00
*	**Kolhapur Range**	**0**	**0**	**0.00**	**0**	**0**	**0.00**	**0**	**0**	**0.00**
19	Bhandara	0	0	0.00	0	0	0.00	0	0	0.00
20	Chandrapur	0	0	0.00	0	0	0.00	0	0	0.00
21	Nagpur Rural	0	0	0.00	0	0	0.00	0	0	0.00
22	Wardha	0	0	0.00	0	0	0.00	0	0	0.00
*	**Nagpur Range**	**0**	**0**	**0.00**	**0**	**0**	**0.00**	**0**	**0**	**0.00**
23	Gadchiroli	0	0	0.00	0	0	0.00	0	0	0.00
24	Gondia	0	0	0.00	0	0	0.00	0	0	0.00
*	**Gadchiroli Range**	**0**	**0**	**0.00**	**0**	**0**	**0.00**	**0**	**0**	**0.00**
25	Ahmednagar	0	0	0.00	0	0	0.00	0	0	0.00
26	Dhule	0	0	0.00	0	0	0.00	0	0	0.00
27	Jalgaon	0	0	0.00	0	0	0.00	0	0	0.00
28	Nasik Rural	0	0	0.00	0	0	0.00	0	0	0.00
29	Nandurbar	0	0	0.00	0	0	0.00	0	0	0.00
*	**Nasik Range**	**0**	**0**	**0.00**	**0**	**0**	**0.00**	**0**	**0**	**0.00**
30	Raigad	0	0	0.00	0	0	0.00	0	0	0.00
31	Ratnagiri	0	0	0.00	0	0	0.00	0	0	0.00
32	Sindhudurg	0	0	0.00	0	0	0.00	0	0	0.00
33	Thane Rural	0	0	0.00	0	0	0.00	0	0	0.00
34	Palghar	0	0	0.00	0	0	0.00	0	0	0.00
*	**Thane Range**	**0**	**0**	**0.00**	**0**	**0**	**0.00**	**0**	**0**	**0.00**
35	Mumbai Railway	0	0		0	0		0	0	
36	Pune Railway	0	0		0	0		0	0	
37	Nagpur Railway	0	0		0	0		0	0	
*	**Railway Range**	**0**	**0**		**0**	**0**		**0**	**0**	
38	Nagpur Commr.	0	0	0.00	0	0	0.00	0	0	0.00
39	Pune Commr.	0	0	0.00	0	0	0.00	0	0	0.00
40	Thane Commr.	0	0	0.00	0	0	0.00	0	0	0.00
41	Mumbai Commr.	0	0	0.00	0	0	0.00	0	0	0.00
42	Nasik Commr.	0	0	0.00	0	0	0.00	0	0	0.00
43	Aurangabad Commr.	0	0	0.00	0	0	0.00	0	0	0.00
44	Solapur Commr.	0	0	0.00	0	0	0.00	0	0	0.00
45	Navi Mumbai	0	0	0.00	0	0	0.00	0	0	0.00
46	Amravati Commr.	0	0	0.00	0	0	0.00	0	0	0.00
	Total Commrs.	**0**	**0**	**0.00**	**0**	**0**	**0.00**	**0**	**0**	**0.00**
	Total of M.S	**0**	**0**	**0.00**	**0**	**0**	**0.00**	**0**	**0**	**0.00**

तक्ता क्र. १२(चालू)

Table No- 12 (Continued)

Sr.No.	Unit	Safety Of Civil Aviation Act			Safety Of Maritime Navigation And Fixed Platforms On Continental Shelf Act			Manual Scavengers And Construction Of Dry Latrines (Prohibition) Act		
		I	V	R	I	V	R	I	V	R
1	2	192	193	194	195	196	197	198	199	200
1	Akola	0	0		0	0	0.00	0	0	0.00
2	Amravati Rural	0	0		0	0	0.00	0	0	0.00
3	Buldhana	0	0		0	0	0.00	0	0	0.00
4	Yavatmal	0	0		0	0	0.00	0	0	0.00
5	Washim	0	0		0	0	0.00	0	0	0.00
*	**Amravati Range**	**0**	**0**		**0**	**0**	**0.00**	**0**	**0**	**0.00**
6	Aurangabad Rural	0	0		0	0	0.00	0	0	0.00
7	Jalna	0	0		0	0	0.00	0	0	0.00
8	Beed	0	0		0	0	0.00	0	0	0.00
9	Osmanabad	0	0		0	0	0.00	0	0	0.00
*	**Aurangabad Range**	**0**	**0**		**0**	**0**	**0.00**	**0**	**0**	**0.00**
10	Nanded	0	0		0	0	0.00	0	0	0.00
11	Latur	0	0		0	0	0.00	0	0	0.00
12	Parbhani	0	0		0	0	0.00	0	0	0.00
13	Hingoli	0	0		0	0	0.00	0	0	0.00
*	**Nanded Range**	**0**	**0**		**0**	**0**	**0.00**	**0**	**0**	**0.00**
14	Kolhapur	0	0		0	0	0.00	0	0	0.00
15	Pune Rural	0	0		0	0	0.00	0	0	0.00
16	Sangli	0	0		0	0	0.00	0	0	0.00
17	Satara	0	0		0	0	0.00	0	0	0.00
18	Solapur Rural	0	0		0	0	0.00	0	0	0.00
*	**Kolhapur Range**	**0**	**0**		**0**	**0**	**0.00**	**0**	**0**	**0.00**
19	Bhandara	0	0		0	0	0.00	0	0	0.00
20	Chandrapur	0	0		0	0	0.00	0	0	0.00
21	Nagpur Rural	0	0		0	0	0.00	0	0	0.00
22	Wardha	0	0		0	0	0.00	0	0	0.00
*	**Nagpur Range**	**0**	**0**		**0**	**0**	**0.00**	**0**	**0**	**0.00**
23	Gadchiroli	0	0		0	0	0.00	0	0	0.00
24	Gondia	0	0		0	0	0.00	0	0	0.00
*	**Gadchiroli Range**	**0**	**0**		**0**	**0**	**0.00**	**0**	**0**	**0.00**
25	Ahmednagar	0	0		0	0	0.00	0	0	0.00
26	Dhule	0	0		0	0	0.00	0	0	0.00
27	Jalgaon	0	0		0	0	0.00	0	0	0.00
28	Nasik Rural	0	0		0	0	0.00	0	0	0.00
29	Nandurbar	0	0		0	0	0.00	0	0	0.00
*	**Nasik Range**	**0**	**0**		**0**	**0**	**0.00**	**0**	**0**	**0.00**
30	Raigad	0	0		0	0	0.00	0	0	0.00
31	Ratnagiri	0	0		0	0	0.00	0	0	0.00
32	Sindhudurg	0	0		0	0	0.00	0	0	0.00
33	Thane Rural	0	0		0	0	0.00	0	0	0.00
34	Palghar	0	0		0	0	0.00	0	0	0.00
*	**Thane Range**	**0**	**0**		**0**	**0**	**0.00**	**0**	**0**	**0.00**
35	Mumbai Railway	0	0		0	0		0	0	
36	Pune Railway	0	0		0	0		0	0	
37	Nagpur Railway	0	0		0	0		0	0	
*	**Railway Range**	**0**	**0**		**0**	**0**		**0**	**0**	
38	Nagpur Commr.	0	0		0	0	0.00	0	0	0.00
39	Pune Commr.	0	0		0	0	0.00	0	0	0.00
40	Thane Commr.	0	0		0	0	0.00	0	0	0.00
41	Mumbai Commr.	0	0		0	0	0.00	0	0	0.00
42	Nasik Commr.	0	0		0	0	0.00	0	0	0.00
43	Aurangabad Commr.	0	0		0	0	0.00	0	0	0.00
44	Solapur Commr.	0	0		0	0	0.00	0	0	0.00
45	Navi Mumbai	0	0		0	0	0.00	0	0	0.00
46	Amravati Commr.	0	0		0	0	0.00	0	0	0.00
	Total Commrs.	**0**	**0**		**0**	**0**	**0.00**	**0**	**0**	**0.00**
	Total of M.S	**0**	**0**		**0**	**0**	**0.00**	**0**	**0**	**0.00**

तक्ता क्र. १२(चालू)

Table No- 12 (Continued)

Sr.No.	Unit	Pre-Natal Diagnostic Techniques (Regulation And Prevention Of Misuse) Act			The Maritime Zones Of India (Regulation Of Fishing By Foreign Vessels) Act		
		I	V	R	I	V	R
1	2	201	202	203	204	205	206
1	Akola	0	0	0.00	0	0	0.00
2	Amravati Rural	0	0	0.00	0	0	0.00
3	Buldhana	0	0	0.00	0	0	0.00
4	Yavatmal	0	0	0.00	0	0	0.00
5	Washim	0	0	0.00	0	0	0.00
*	**Amravati Range**	**0**	**0**	**0.00**	**0**	**0**	**0.00**
6	Aurangabad Rural	0	0	0.00	0	0	0.00
7	Jalna	0	0	0.00	0	0	0.00
8	Beed	0	0	0.00	0	0	0.00
9	Osmanabad	0	0	0.00	0	0	0.00
*	**Aurangabad Range**	**0**	**0**	**0.00**	**0**	**0**	**0.00**
10	Nanded	0	0	0.00	0	0	0.00
11	Latur	0	0	0.00	0	0	0.00
12	Parbhani	0	0	0.00	0	0	0.00
13	Hingoli	0	0	0.00	0	0	0.00
*	**Nanded Range**	**0**	**0**	**0.00**	**0**	**0**	**0.00**
14	Kolhapur	0	0	0.00	0	0	0.00
15	Pune Rural	0	0	0.00	0	0	0.00
16	Sangli	0	0	0.00	0	0	0.00
17	Satara	0	0	0.00	0	0	0.00
18	Solapur Rural	0	0	0.00	0	0	0.00
*	**Kolhapur Range**	**0**	**0**	**0.00**	**0**	**0**	**0.00**
19	Bhandara	0	0	0.00	0	0	0.00
20	Chandrapur	0	0	0.00	0	0	0.00
21	Nagpur Rural	0	0	0.00	0	0	0.00
22	Wardha	0	0	0.00	0	0	0.00
*	**Nagpur Range**	**0**	**0**	**0.00**	**0**	**0**	**0.00**
23	Gadchiroli	0	0	0.00	0	0	0.00
24	Gondia	0	0	0.00	0	0	0.00
*	**Gadchiroli Range**	**0**	**0**	**0.00**	**0**	**0**	**0.00**
25	Ahmednagar	0	0	0.00	0	0	0.00
26	Dhule	0	0	0.00	0	0	0.00
27	Jalgaon	0	0	0.00	0	0	0.00
28	Nasik Rural	0	0	0.00	0	0	0.00
29	Nandurbar	0	0	0.00	0	0	0.00
*	**Nasik Range**	**0**	**0**	**0.00**	**0**	**0**	**0.00**
30	Raigad	0	0	0.00	0	0	0.00
31	Ratnagiri	0	0	0.00	0	0	0.00
32	Sindhudurg	0	0	0.00	0	0	0.00
33	Thane Rural	0	0	0.00	0	0	0.00
34	Palghar	0	0	0.00	0	0	0.00
*	**Thane Range**	**0**	**0**	**0.00**	**0**	**0**	**0.00**
35	Mumbai Railway	0	0		0	0	
36	Pune Railway	0	0		0	0	
37	Nagpur Railway	0	0		0	0	
*	**Railway Range**	**0**	**0**		**0**	**0**	
38	Nagpur Commr.	0	0	0.00	0	0	0.00
39	Pune Commr.	0	0	0.00	0	0	0.00
40	Thane Commr.	0	0	0.00	0	0	0.00
41	Mumbai Commr.	0	0	0.00	0	0	0.00
42	Nasik Commr.	0	0	0.00	0	0	0.00
43	Aurangabad Commr.	0	0	0.00	0	0	0.00
44	Solapur Commr.	0	0	0.00	0	0	0.00
45	Navi Mumbai	0	0	0.00	0	0	0.00
46	Amravati Commr.	0	0	0.00	0	0	0.00
	Total Commrs.	**0**	**0**	**0.00**	**0**	**0**	**0.00**
	Total of M.S	**0**	**0**	**0.00**	**0**	**0**	**0.00**

तक्ता क्र. १२(पुर्ण)

Table No- 12 (Concluded)

Sr.No.	Unit	Other SLL Crimes			Total Cognizable Crimes Under SLL		
		I	V	R	I	V	R
1	2	207	208	209	210	211	212
1	Akola	301	331	15.73	2662	365	139.15
2	Amravati Rural	937	937	43.06	4924	958	226.29
3	Buldhana	166	8	6.08	4524	17	165.59
4	Yavatmal	842	843	28.48	5884	880	199.01
5	Washim	152	0	11.86	2024	9	157.92
*	**Amravati Range**	**2398**	**2119**	**21.68**	**20018**	**2229**	**181.01**
6	Aurangabad Rural	265	265	11.17	1728	275	72.86
7	Jalna	296	0	14.04	1801	10	85.44
8	Beed	349	6	12.57	2767	20	99.69
9	Osmanabad	137	0	7.76	1206	16	68.31
*	**Aurangabad Range**	**1047**	**271**	**11.61**	**7502**	**321**	**83.16**
10	Nanded	272	0	7.56	2353	32	65.40
11	Latur	296	0	11.25	1764	19	67.06
12	Parbhani	158	0	8.01	1566	39	79.41
13	Hingoli	47	3	3.72	804	3	63.60
*	**Nanded Range**	**773**	**3**	**8.17**	**6487**	**93**	**68.54**
14	Kolhapur	190	111	4.61	1586	144	38.48
15	Pune Rural	513	516	11.53	2882	562	64.79
16	Sangli	196	196	6.54	1640	239	54.70
17	Satara	632	0	19.85	2135	57	67.06
18	Solapur Rural	747	747	20.90	4788	768	133.99
*	**Kolhapur Range**	**2278**	**1570**	**12.43**	**13031**	**1770**	**71.11**
19	Bhandara	310	95	24.39	2300	102	180.97
20	Chandrapur	1243	28	53.24	7208	63	308.70
21	Nagpur Rural	286	286	12.71	4013	304	178.31
22	Wardha	397	396	28.84	10926	417	793.71
*	**Nagpur Range**	**2236**	**805**	**30.91**	**24447**	**886**	**337.99**
23	Gadchiroli	107	108	9.37	1813	111	158.78
24	Gondia	276	276	19.63	2497	294	177.59
*	**Gadchiroli Range**	**383**	**384**	**15.03**	**4310**	**405**	**169.16**
25	Ahmednagar	653	0	13.60	3892	25	81.05
26	Dhule	78	0	3.54	1144	11	51.95
27	Jalgaon	233	259	5.16	3270	330	72.37
28	Nasik Rural	387	0	8.13	2184	18	45.86
29	Nandurbar	48	0	2.70	1007	7	56.60
*	**Nasik Range**	**1399**	**259**	**7.74**	**11497**	**391**	**63.65**
30	Raigad	201	201	10.71	659	228	35.11
31	Ratnagiri	40	40	2.48	430	49	26.63
32	Sindhudurg	29	29	3.41	281	40	33.06
33	Thane Rural	226	230	9.43	749	255	31.25
34	Palghar	214	139	6.77	613	160	19.39
*	**Thane Range**	**710**	**639**	**7.17**	**2732**	**732**	**27.60**
35	Mumbai Railway	61	61		99	79	
36	Pune Railway	41	0		52	4	
37	Nagpur Railway	28	28		128	28	
*	**Railway Range**	**130**	**89**		**279**	**111**	
38	Nagpur Commr.	19144	19144	707.99	22095	19347	817.12
39	Pune Commr.	1788	1076	31.15	3983	1257	69.39
40	Thane Commr.	1366	1414	26.85	2226	1519	43.76
41	Mumbai Commr.	3018	2414	23.90	23737	3024	187.94
42	Nasik Commr.	431	431	24.76	907	505	52.10
43	Aurangabad Commr.	238	0	14.86	794	50	49.56
44	Solapur Commr.	195	0	18.98	1365	27	132.84
45	Navi Mumbai	341	342	15.95	902	409	42.19
46	Amravati Commr.	273	277	31.78	1454	317	169.27
	Total Commrs.	**26794**	**25098**	**79.91**	**57463**	**26455**	**171.39**
	Total of M.S	**38148**	**31237**	**32.02**	**147766**	**33393**	**124.02**

प्रकरण - २
मोठया शहरांतील गुन्हेगारी
(पोलीस आयुक्तालये)

प्रस्तावना

२.१.१ महाराष्ट्रामध्ये एकूण ९ मोठी शहरे असून या शहरांमध्ये पोलीस आयुक्तालय पध्दती आहे. सन २०११ च्या जनगणनेच्या आधाराने सन २०१५ ची या ९ मोठया शहरांची अंदाजित लोकसंख्या ३३५.२९ लाख आहे. सर्वात कमी लोकसंख्या ८.५९ लाख (अमरावती शहर) तर सर्वाधिक लोकसंख्या १२६.३० लाख (मुंबई शहर) अशी आहे.

२.१.२ २०१५ ची अंदाजित लोकसंख्या २०११ च्या जनगणनेनुसार आहे. या सर्व ९ शहरांची मिळून लोकसंख्या महाराष्ट्र राज्याच्या एकूण लोकसंख्येच्या २८.१४% आहे.

CHAPTER – 2
CRIME IN LARGE CITIES
(POLICE COMMISSIONERATES)

Preface

2.1.1 There are 9 large cities in Maharashtra State, which have Police Commissionerate system. As per 2011 census, estimated population in 2015 of these 9 large cities is 335.29 Lakhs which is ranging from minimum 8.59 Lakhs Amravati (C) to maximum 126.30 Lakhs Mumbai (C).

2.1.2 Population in the year 2015 is estimated on census figure of the year 2011. The population of these 9 large cities constitutes 28.14 percent of the State's total population.

तक्ता क्र. २.१
मोठी शहरे व लोकसंख्या
Table No. 2.1
Large Cities & Population

Sr. No.	City	Estimated Mid-Year 2015 Population (in Lakhs)	Sr. No.	City	Estimated Mid-Year 2015 Population (in Lakhs)
1	2	3	1	2	3
1	Nagpur Commr.	27.04	6	Aurangabad Comm	16.02
2	Pune Commr.	57.40	7	Solapur Commr.	10.28
3	Thane Commr.	50.87	8	Navi Mumbai	21.38
4	Mumbai Commr.	126.30	9	Amravati Commr.	8.59
5	Nasik Commr.	17.41			
	Grant Total: Large Cities: 9				**335.29**

गुन्ह्यांचे विविध प्रकार

२.२.१ मोठया शहरांतील गुन्हेगारीचे विश्लेषण हे भारतीय दंड विधान संहितेच्या २२ आणि विशेष व स्थानिक कायद्यांच्या २१ शीर्षांखालील गुन्ह्यांबाबत मर्यादित आहे. प्रकरण १ मध्ये या ९ शहरांमध्ये वरील कायद्यानुसार दाखल होणाऱ्या गुन्हयांची सविस्तर माहिती जरूर त्या तक्त्यांमध्ये देण्यात आलेली आहे. गुन्हेगारीसंबंधी इतर तपशील म्हणजे विधी संघर्षग्रस्त बाल, सराईत गुन्हेगारी इत्यादी बाबतची माहिती सदर अहवालाच्या संबंधित प्रकरणात देण्यात आली आहे. तरी या शहरांतील गुन्हेगारीचा आराखडा, गुन्हेगारीचा कल या बाबतचे विश्लेषण सदर प्रकरणात सादर करण्यात आलेले आहे.

Various forms of crime.

2.2.1 The present analysis vis-a-vis 9 Large Cities is restricted to 22 major specified crime heads under IPC and 21 specified crime heads under SLL. City-wise details are furnished along with relevant tables in Chapter 1. Other details vis-a-vis 'Juvenile in Conflict with Law', 'Recidivism' etc. are furnished in the respective chapters of the report. However, an analysis of the crime pattern and major trends in large cities is discussed in the forthcoming part of this chapter.

भारतीय दंड विधान संहितेखालील अपराध

२.३.१ सन २०१५ सालात ९ शहरांमध्ये भारतीय दंड विधान संहितेच्या अंतर्गत विविध शिर्षाखाली एकूण १०८५८६ दखलपात्र अपराधांची नोंद झालेली आहे. सन २०१४ सालात ९८५४६ या शहरातील दखलपात्र अपराधांशी तुलना करता २०१५ सालात १०.१८% वाढ झाल्याचे दिसून येते. त्याप्रमाणे राज्यपातळीवरही दखलपात्र गुन्हयांमध्ये २०१४ पेक्षा १०.२४% ने वाढ झाली असल्याचे निदर्शनास येते. तक्ता क्र.२.२ मध्ये मोठ्या शहरांतील शीर्षनिहाय दाखल गुन्हयांमध्ये सन २०१४ च्या तुलनेत २०१५ मध्ये झालेला प्रतिशत बदल आणि एकुण दाखल गुन्हयांतील त्यांचा प्रतिशत हिस्सा दर्शविण्यात आला आहे.

Crimes under Indian Penal Code (IPC)

2.3.1 A total of 108586 cognizable offences under the IPC have been reported in the 9 Commrs. during 2015, as compared to 98546 offences during 2014, which shows an increase by 10.18%. At State level for cognizable offences, an increase by 10.24% during 2015 as compared to 2014 has been noted. The crime head-wise percentage variation during 2015 over 2014 and percentage share to total crime in large cities is shown in the Table No.2.2.

तक्ता क्र. २.२

सन २०१४ व २०१५ मध्ये मोठया शहरांतील गुन्हे, बदल व प्रतिशत हिस्सा

Table No. 2.2

Table showing incidences during 2014 and 2015 with percentage variation & percentage share in large cities

Sr. No.	Crime Head	Incidences		Percent-age Share in Total	Percentage variation during 2015 over 2014
		2014	2015		
1	2	3	4	5	6
1	Murder	701	641	0.59	-8.56
2	Attempt to commit Murder	758	896	0.83	18.21
3	Culpable Homicide not amounting to Murder	24	28	0.03	16.67
4	Attempt to commit Culpable Homicide	3	3	0.00	-
5	Rape	1333	1682	1.55	26.18
6	Attempt to commit Rape	4	1	0.00	-75.00
7	Kidnapping & Abduction	1686	4229	3.89	150.83
8	Dacoity	244	210	0.19	-13.93
9	Making Preparation and Assembly for committing Dacoity	134	136	0.13	1.49
10	Robbery	5705	4977	4.58	-12.76
11	Criminal Trespass/Burglary	8691	8601	7.92	-1.04
12	Theft	26417	28708	26.44	8.67
13	Unlawful Assembly	169	156	0.14	-7.69
14	Riots	1564	1686	1.55	7.80

15	Criminal Breach of Trust	1089	1234	1.14	13.31
16	Cheating	5803	6308	5.81	8.70
17	Forgery	1015	881	0.81	-13.20
18	Counterfeiting	103	111	0.10	7.77
19	Arson	236	272	0.25	15.25
20	Grievous Hurt	3706	3009	2.77	-18.81
21	Dowry Deaths	80	57	0.05	-28.75
22	Assault on women with intent to outrage her Modesty	3588	4669	4.30	30.13
23	Insult to the Modesty of Women	635	590	0.54	-7.09
24	Cruelty by Husband or his Relatives	2194	2522	2.32	14.95
25	Importation of Girls from Foreign Country	1	0	0.00	-100.00
26	Causing Death by Negligence	2551	2622	2.41	2.78
27	Offences against State	0	0	0.00	-
28	Offences promoting enmity between different groups	10	9	0.01	-10.00
29	Extortion	487	647	0.60	32.85
30	Disclosure of Identity of Victims	0	0	0.00	-
31	Incidence of Rash Driving	9829	10458	9.63	6.40
32	Human Trafficking	107	2	0.00	-98.13
33	Unnatural Offences	62	112	0.10	80.65
34	Other IPC crimes	19617	23129	21.30	17.90
TOTAL COGNIZABLE CRIMES UNDER IPC		**98546**	**108586**	**100.00**	**10.19**

२.३.२ सन २०१५ मध्ये ९ मोठया शहरांतील गुन्हयांवर दृष्टिक्षेप टाकता पळवून नेणे व अपहरण (१५०.८३%), अनैर्सिक गुन्हे (८०.६४%), खंडणी (७२.४८%), विनयभंग (३०.१२%), बलात्कार (२६.१८%) व खुनाचा प्रयत्न (१८.२०%) या शीर्षाखालील गुन्हयांत भरीव वाढ झालेली असून, अनैतिक मानवी व्यापार (९८.१३%), बलात्काराचा प्रयत्न (७५.००%), बनावटीकरण (४०.७७%), गंभीर दुखापत (१८.८०%) व स्त्रियांना लज्जा वाटेल अशी वर्तणुक करणे (७.०८%) या शीर्षांखालील गुन्हयांत घट झालेली आहे. ९ मोठया शहरांतील एकुण दखलपात्र गुन्हयात (१०.१८%) ने वाढ झालेली दिसून येते.

2.3.2 During 2015 there is significant increase under the crime head of Kidnapping & Abduction (150.83%), Unnatural offences(80.64%), Extortion(72.48%), Molestation (30.12%), Rape (26.18%), Attempt to commit Murder (18.20%), whereas there is decrease under crime heads Human Trafficking(98.13%), Attempt to commit Rape(75%), Counterfeiting (40.77%), Grievous Hurt (18.80%) & Insult to the modesty of woman (7.08%). There is an overall increase in total cognizable crime in 9 cities (10.18%).

आलेख क्र. २.१

सन २०१५ मध्ये भा.दं.वि. शीर्षाखालील गुन्हयाचे ९ शहरांतील प्रतिशत प्रमाण

Chart No. 2.1

IPC Crime in 9 Police Commissionerates during 2015
(Percentage-wise)

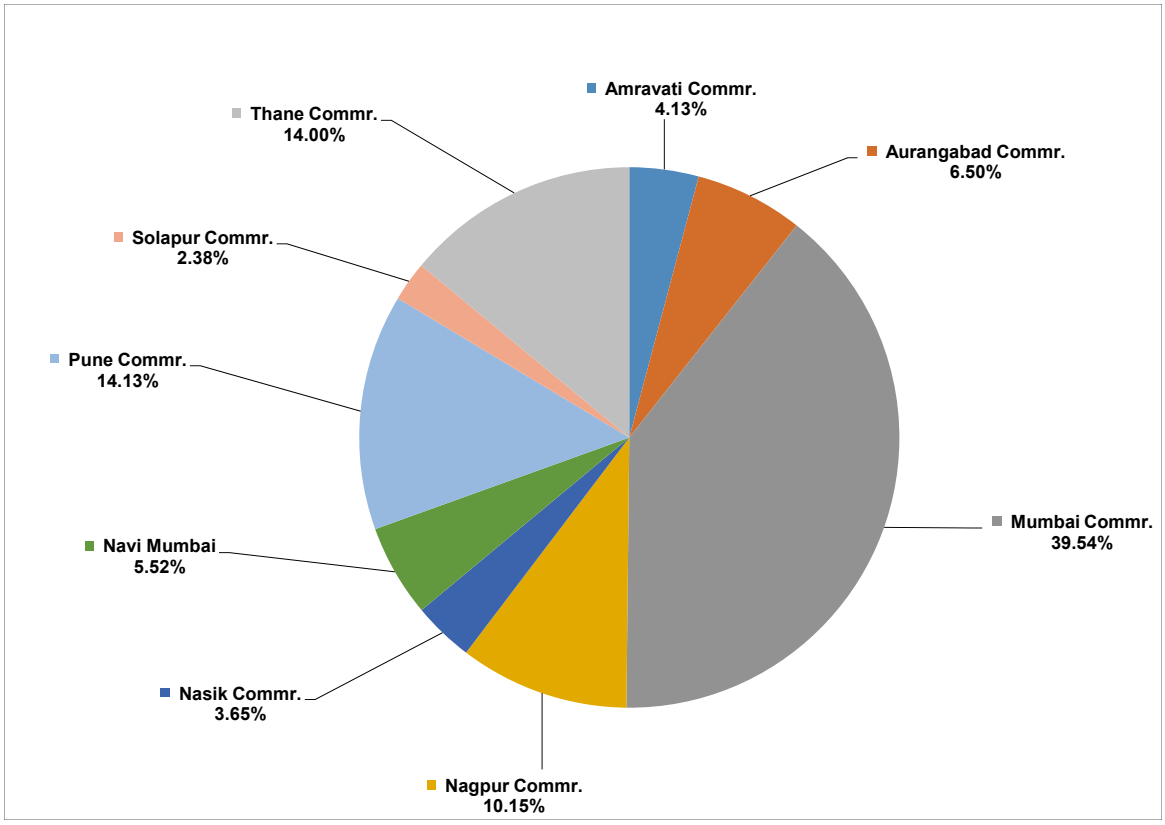

२.३.३ ९ शहरातील एकूण दाखल गुन्हयांमध्ये मुंबई शहरात दाखल झालेल्या गुन्हयांचा वाटा सर्वात जास्त (३९.५४%) असून त्याखालोखाल पुणे शहर (१४.१३%), ठाणे शहर (१४%), नागपूर शहर (१०.१५%), औरंगाबाद शहर (६.४९%), नवी मुंबई (५.५२.%), नाशिक शहर (३.६५%), अमरावती शहर (४.१३%) व सोलापूर शहर (२.३८%) असा गुन्हयांचा हिस्सा दिसून येतो.

2.3.3. Mumbai (C) has the highest share (39.54%) of total crime registered in 9 large cities followed by Pune (C) (14.13%), Thane (C) (14%), Nagpur (C) (10.15%), A'bad (C) (6.49%), Navi Mumbai (C) (5.52%), Nasik (C) (3.65%) Amravati (C) (4.13%) & Solapur (C) (2.38%).

<u>गुन्हयांचे प्रमाण (भा.दं.वि.)</u>

२.४.१ गुन्हयांचे प्रमाण म्हणजे दर एक लाख लोकसंख्येमागे दाखल होणारे गुन्हे शहरातील गुन्हयांचे प्रमाण व राज्यातील गुन्हयाचे प्रमाण यांचा तौलनिक अभ्यास तक्ता क्र. २.३ मध्ये करण्यात आला आहे.

<u>Rate of Crime (IPC)</u>

2.4.1 The rate of crime is incidences reporting per Lakh of population. The comparative study of crime rate in each city with that of Maharashtra State is presented in Table No.2.3.

तक्ता क्र.२.३

मोठी शहरे व राज्यात दाखल गुन्हयाचे (भादंवि) तुलनात्मक प्रमाण

Table No. 2.3

Comparative rate of crime (IPC) in large cities & State (Per 1 Lakh Population)

Sr. No.	City	Rate of Crime (IPC) Per Lakh Pop.	
		Crime Rate	State of Maharashtra
1	2	3	4
1	Amravati Commr.	522.5	231.2
2	Aurangabad Commr.	440.1	
3	Nagpur Commr.	407.5	
4	Mumbai Commr.	340	
5	Thane Commr.	298.9	
6	Navi Mumbai	280.2	
7	Pune Commr.	267.4	
8	Solapur Commr.	251.4	
9	Nasik Commr.	227.6	
Total of Nine Cities:		**323.9**	

२.४.२ वरील तक्त्याचे अवलोकन करता सर्वसाधारणतः भारतीय दंड विधान संहितेखाली राज्यात दाखल होणा-या गुन्हयांचे प्रमाणापेक्षा शहरांत दाखल होणा-या गुन्हयांचे प्रमाण जास्त असल्याचे आढळून येईल., अमरावती शहर (५२२.५), औरंगाबाद शहर (४४०.१), नागपूर शहर (४०७.५), मुंबई शहर (३४०), ठाणे शहर (२९८.९), नवी मुंबई (२८०.२), पुणे शहर (२६७.४), व सोलापूर शहर (२५१.४) या शहरांतील गुन्हयाचे प्रमाण राज्याचे गुन्हयांचे प्रमाणापेक्षा (२३१.२) जास्त असल्याचे दिसून येते. तर नाशिक शहर (२२७.६) हे प्रमाण कमी आहे.

2.4.2 From this table it may be observed that comparative crime rate under I.P.C. in cities is generally higher than that of Maharashtra State. The crime rate in Amravati (C) (522.5), A'bad (C) (440.1), Nagpur (C) (407.5), Mumbai (C) (340), Thane (C) (298.9) Navi Mumbi (C) (280.2), Pune (C) (267.4) and Solapur (C) (251.4) is more than the crime rate of the State (231.2) where as Nashik (C) (227.6) has below than State.

मोठया शहरांतील गुन्हेगारीचा साचा

२.५.१ राज्यातील भा.दं.वि. प्रमाणे दाखल एकूण गुन्हयांपैकी ९ शहरातील गुन्हयांचा वाटा ३९.४३% आहे. ९ शहरांची लोकसंख्या राज्याच्या लोकसंख्येच्या (२८.१४%) इतकी आहे.

Crime pattern in Large cities.

2.5.1 The proportion of total registered crime under I.P.C. in 9 big cities is 39.43% as compared to the state's total registered I.P.C. Crimes, with proportion of population of large Cities in the State's population is 28.14%.

आलेख क्र. २.२

सन २०१५ मधील राज्यातील शहरांच्या वेगवेगळया गुन्हयांची टक्केवारी दर्शविणारा आलेख

Chart No. 2.2

Percentage share of cities towards various Offences in the State during -2015

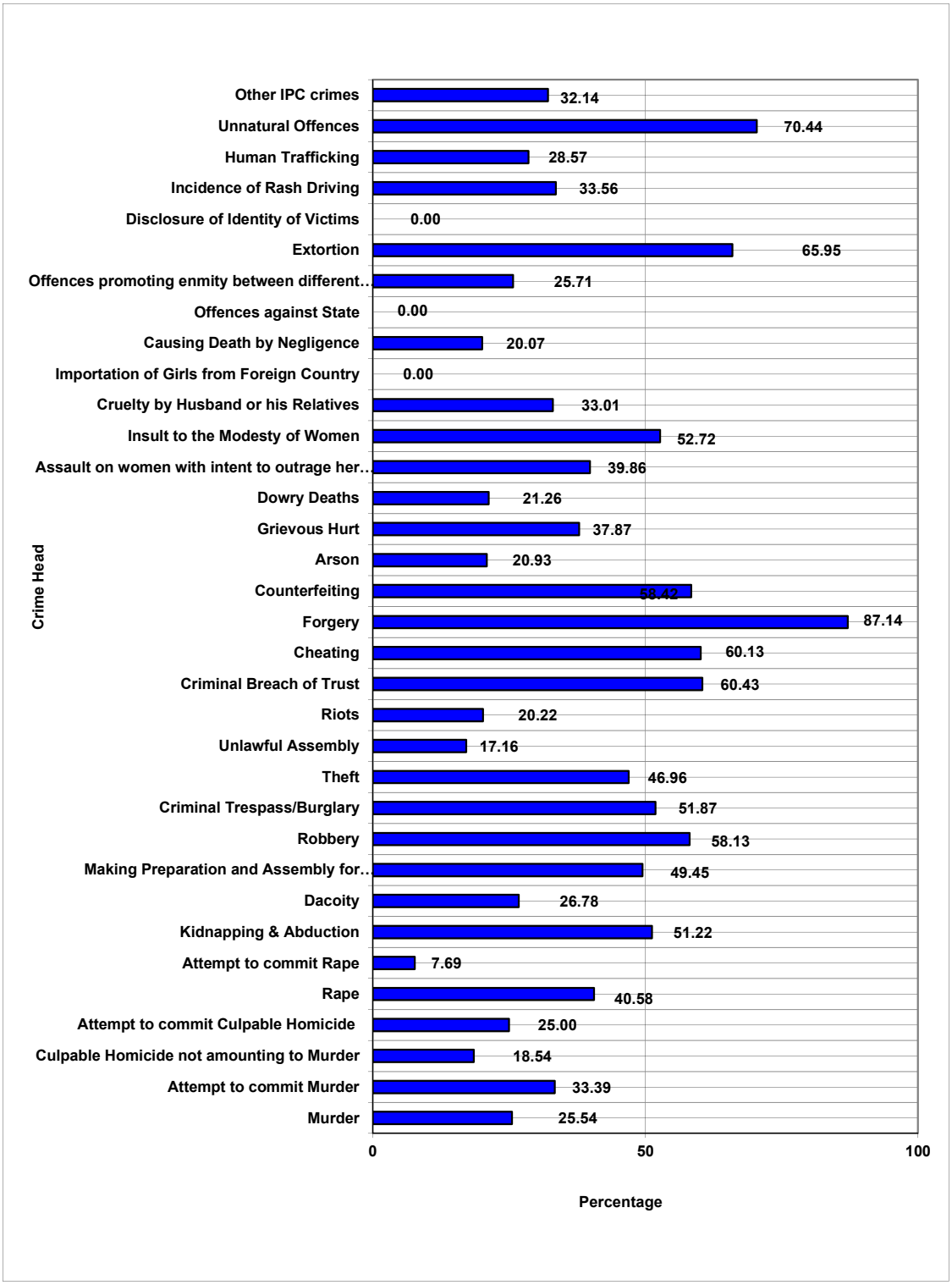

खून, खुनाचा प्रयत्न आणि सदोष मनुष्यवध

२.५.२ सन २०१५ सालात महाराष्ट्र राज्यात खुनांचे २५०९ गुन्हे दाखल झालेले असून त्यापैकी ६४१ गुन्हे ९ शहरांत दाखल झालेले आहेत. राज्यात दाखल खुनांच्या गुन्हयात त्यांचा वाटा २५.५४% इतका आहे. एकूण ९ शहरांत दाखल झालेल्या खुनांच्या गुन्हयांपैकी सर्वाधिक २६.३७% गुन्हे मुंबई शहरात दाखल झालेले आहेत

२.५.३ सन २०१५ सालात ९ शहरांमध्ये खुनाचा प्रयत्न या सदराखाली एकूण ८९६ गुन्हे दाखल असून २०१४ सालात या सदराखाली ७५८ गुन्हयांची नोंद झालेली होती. खुनाचा प्रयत्न या शीर्षाखाली सन २०१५ मध्ये एकुण ३३.३९% वाढ झाल्याचे दिसून येते.

Murder, its attempt and culpable homicide not amounting to Murder.

2.5.2 During 2015, 2509 Murder cases have been reported in the State. The 9 cities together contributed 641 (25.54%). Mumbai (C) registered the highest number of Murders i.e. 26.37% of the total Murders registered in the Cities.

2.5.3 During 2015, 896 cases of Attempt to commit Murder have been reported in 9 cities as against 758 cases During 2014. which shows an increase by 33.39% during 2015

तक्ता क्र. २.४

सन २०१५ मध्ये राज्य व आयुक्तालयातील भादंवि अंतर्गत दाखल गुन्हे व प्रतिशत हिस्सा

Table No. 2.4

Incidences of crimes reported under IPC in State & Commissionerates during 2015 with Percentage Share of Cities (Commissionerates)

SR. NO.	CRIME HEAD	MAHARASHTRA STATE	CITIES	SHARE OF CITIES IN STATE
1	2	3	4	5
1	Murder	2509	641	25.54
2	Attempt to commit Murder	2683	896	33.39
3	Culpable Homicide not amounting to Murder	151	28	18.54
4	Attempt to commit Culpable Homicide	12	3	25.00
5	Rape	4144	1682	40.58
6	Attempt to commit Rape	13	1	7.69
7	Kidnapping & Abduction	8255	4229	51.22
8	Dacoity	784	210	26.78
9	Making Preparation and Assembly for committing	275	136	49.45
10	Robbery	8561	4977	58.13
11	Criminal Trespass/Burglary	16581	8601	51.87
12	Theft	61128	28708	46.96
13	Unlawful Assembly	909	156	17.16
14	Riots	8336	1686	20.22
15	Criminal Breach of Trust	2042	1234	60.43
16	Cheating	10490	6308	60.13
17	Forgery	1011	881	87.14
18	Counterfeiting	190	111	58.42
19	Arson	1299	272	20.93
20	Grievous Hurt	7945	3009	37.87
21	Dowry Deaths	268	57	21.26
22	Assault on women with intent to outrage her Modesty	11713	4669	39.86
23	Insult to the Modesty of Women	1119	590	52.72
24	Cruelty by Husband or his Relatives	7640	2522	33.01
25	Importation of Girls from Foreign Country	0	0	0.00
26	Causing Death by Negligence	13058	2622	20.07
27	Offences against State	1	0	0.00
28	Offences promoting enmity between different groups	35	0	25.71
29	Extortion	981	647	65.95
30	Disclosure of Identity of Victims	0	0	0.00
31	Incidence of Rash Driving	31161	10458	33.56
32	Human Trafficking	7	2	28.57
33	Unnatural Offences	159	112	70.44
34	Other IPC crimes	71954	23129	32.14
	TOTAL COG. CRIMES UNDER IPC	**275414**	**108577**	**39.42**

सदोष मनुष्यवध

२.५.४ महाराष्ट्र राज्यात सदोष मनुष्यवध या गुन्हे शीर्षाखाली दाखल गुन्हयांमध्ये ९ शहरांचा १८.५४ इतका वाटा आहे. ९ शहरांमध्ये या सदराखालील दाखल झालेल्या गुन्हयांपैकी पुणे शहर १० (३५.७१%) व ठाणे शहर ७ (२५%) इतका वाटा आहे.

Culpable Homicide not amounting to Murder

2.5.4 The 9 Cities contributed for 18.54% cases of C.H.not amounting to Murder reported in the State. Pune (C)(10) accounts for 35.71% and Thane (C)(7) 25% of C.H.not amounting to murder.

पळवून नेणे व अपहरण

२.५.५ या गुन्हेशीर्षाखालील ९ शहरांमध्ये दाखल झालेल्या गुन्हयांमध्ये सन २०१४ पेक्षा सन २०१५ मध्ये १५०.८३% गुन्हयांची वाढ झालेली आहे. सन २०१५ मध्ये राज्यात दाखल झालेल्या गुन्हयांमध्ये ९ शहरांमधील दाखल गुन्हयांचा वाटा ५१.२२% आहे.

Kidnapping & Abduction

2.5.5 An increase by 150.83% in the crime under this head is noted during the year 2015 as compared to that of 2014. The 9 cities accounted for 51.22% of all cases registered in the State during 2015.

बलात्कार

२.५.६ सन २०१४ (१३३३) तर सन २०१५ (१६८२) मध्ये या सदराखालील ९ आयुक्तालयांमधील गुन्हयात ३४९ (२६.१८%) ने वाढ झालेली आहे. मुंबई शहरात सर्वात जास्त ७१२ (४२.३३%) गुन्हे दाखल आहेत.

Rape

2.5.6 The number of cases reported (1682) in the 9 Commissionerates during 2015, shows an increase by 349 (26.18%) as compared to the previous year 2014 . Mumbai (C) reported the highest number of incidences, i.e. 712 (42.33%).

२.५.७ बलात्कार या गुन्हे शीर्षाखाली राज्यातील एकूण ४१४४ गुन्हयामध्ये ९ शहरांचा वाटा १६८२ (४०.५८%) आहे.

2.5.7 Out of 4144 Rape cases reported in the State, the 9 cities have their share of 1682 cases (40.58%).

२.५.८ शहरातील बलात्कारांच्या गुन्हयांची आकडेवारी पाहता १२ वर्षापेक्षा लहान वयोगटातील बलात्काराचे बळी १९७ (११.४३%) असून, १२ ते १६ वर्षे वयोगटातील बळींचे प्रमाण ३९५ (२२.९२%) असे आहे. १६ ते १८ वयोगटातील ३८७ (२२.४६%) आहे. १८ ते ३० वयोगटातील बळी ५५५ (३२.२१%) आहेत, ३० ते ४५ वयोगटातील बळी १७३ (१०.०४%), ४५ ते ६० या वयोगटातील बळींचे प्रमाण १६ (०.९३%) व ६० वर्षावरील वयोगटात बळींची संख्या ० (०%) इतकी आहे. १८ ते ३० वयोगटातील बळीचे प्रमाण हे सर्वांत जास्त ५५५ (३२.२१%) आहे.

2.5.8 Age group wise analysis of rape victims in large cities shows that 197 (11.43%) victims were below 12 years of age, 395 (22.92%) in the age group of 12 to 16 years, 387 (22.46%) in the age group of 16 to 18 years, 555 (32.21%) victims were between 30 to 45 years, 173 (10.04%) victims were in the age group of 45 to 60 years 16 (0.93%) and there is no victim above age group of 60 years. The highest share of rape victims were in the age group of 18 to 30 years which comprises 555(32.21%).

तक्ता क्र. २.५

मोठ्या शहरांतील बलात्काराचे बळी २०१५

Table No. 2.5

Victims of Rape in Large Cities - 2015

Sr. No.	Type of Place	Total Victims	Age groupwise Rape Victims						
			Below 12 years	12-16 Years	16-18 years	18-30 Years	30-45 Years	45-60 Years	60 years & above
1	2	3	4	5	6	7	8	9	10
1	CITIES	1723	197 (11.43%)	395 (22.92%)	387 (22.46 %)	555 (32.21%)	173 (10.04%)	16 (0.93%)	0 (0%)
2	STATE	4189	372 (8.88%)	865 (20.65%)	1030 (24.59 %)	1385 (33.06%)	456 (10.89%)	72 (1.72%)	9 (0.21%)

Note : Bracketed figures represent the percentage share of victims in the tabulated age group in the total victims .

दरोडा

२.५.९ ९ शहरांमध्ये २०१५ मध्ये (२१०) गुन्हे दाखल झाले. २०१४ पेक्षा (२४४) म्हणजेच १३.९३% ने घट झाली. राज्यातील एकूण (७८४) दरोड्यांपैकी २६.७८% गुन्हे ९ शहरांमध्ये दाखल झाले आहेत.

Dacoity

2.5.9 There were (210) cases reported under this head during 2015 as against during 2014 (244) which shows decrease by 13.93%. Out of (784) total dacoities registered in the State, 26.78% have been registered in the 9 cities.

जबरी चोरी

२.५.१० सन २०१५ मध्ये राज्यात या सदराखाली दाखल झालेल्या एकूण गुन्हयांपैकी ५८.१३ % गुन्हे ९ शहरांमध्ये दाखल असून सन २०१४ शी तुलना करता १२.७६% ने घट झाल्याचे आढळून येते. सर्व शहरांमध्ये सर्वात जास्त १७०८ (३४.३१%) गुन्हयांची नोंद मुंबई शहरात झालेली आहे. त्या खालोखाल ठाणे शहर १२०२ (२४.१५%), पुणे शहर ७३१ (१४.६८%) व नागपूर शहर ४६४ (९.३२%) या शहरांमध्ये जबरी चोरीच्या गुन्हयांची नोंद झालेली आहे.

Robbery

2.5.10 During 2015, 9 cities contributed 58.13% of all robberies reported in the State, an decrease of 12.76% over the previous year 2014. Mumbai (C) reported the highest robberies i.e. 1708 (34.31%) followed by Thane (C) 1202 (24.15%), Pune (C) 731 (14.68%) and Nagpur (C) 464 (9.32%).

घरफोडी चोरी

२.५.११ सन २०१५ सालात राज्यात या सदराखाली दाखल झालेल्या गुन्हयांपैकी ५१.८७% गुन्हे ९ शहरांमध्ये नोंद झालेले आहेत. शहरांमध्ये एकूण ८६०१ गुन्हयांची नोंद झालेली असून सन २०१४ पेक्षा १.०३% ने घट झाली आहे. घरफोडी चोरीचे सर्वात जास्त गुन्हे मुंबई शहर (३०१०) दाखल झाले असून त्यांची टक्केवारी ३४.९९% इतकी आहे त्याखालोखाल ठाणे शहर (१६१९) १८.८२%, पुणे शहर (११९४) १३.८८ % व नागपूर शहर (१०७९) १२.५४%. याप्रमाणे सन २०१५ सालात गुन्हयांची नोंद झालेली आहे.

Burglary

2.5.11 Burglaries in the 9 cities contributed 51.87% of all such cases (8601) reported in big cities during 2015 and show an decrease by 1.03% over 2014(8691). The highest number of burglaries have been reported in Mumbai (C) (3010) 34.99%, followed by Thane (C) (1619) 18.82%, Pune (C) (1194) 13.88% and Nagpur (C) (1079) 12.54%.

चोरी

२.५.१२ सन २०१५ मध्ये चोरी या सदराखालील गुन्हयांमध्ये २०१४ सालाशी तुलना करता या ९ शहरांमध्ये ८.६७% ने वाढ झालेली असून राज्यात दाखल झालेल्या चोरीच्या गुन्हयांपैकी २८७०८ (४६.९६%) गुन्हे या ९ शहरांमध्ये नोंद झालेले आहेत. ९ शहरांमध्ये दाखल झालेल्या चोरीच्या गुन्हयांपैकी सर्वात जास्त १०४२२ (३६.३०%) गुन्हे एकट्या मुंबई शहर दाखल झाले असून त्याखालोखाल पुणे शहर ५०३७ (१७.५४%) व ठाणे शहर ३५२६ (१२.२८%) या शहरांमध्ये चोरीचे गुन्हे दाखल झालेले आहेत.

Theft

2.5.12 During 2015 Theft cases in 9 Cities shows an increase by 8.67% as compared to 2014. 28708 theft cases have been reported in 9 large cities, which contributed 46.96% of all total theft cases reported in the State. Mumbai (C) has the largest share of thefts 10422, (36.30%), followed by Pune (C) 5037 (17.54%) and Thane (C) 3526 (12.28%).

गर्दी मारामारी

२.५.१३ सन २०१५ सालात राज्यात या सदराखाली दाखल झालेल्या गुन्हयांपैकी २०.२२% गुन्हयांची नोंद ९ शहरांत झाल्याचे दिसून येते. दाखल गुन्हयांची आकडेवारी पाहता ठाणे शहर प्रथम क्रमांक लागतो. ९ शहरात गर्दी मारामारीच्या एकूण दाखल गुन्हयांपैकी सर्वात जास्त (४१४) २४.५५% गुन्हे ठाणे शहर येथे दाखल झालेले आहेत. गर्दी मारामारीच्या घटनांचे अवलोकन करता मुंबई शहर (३९६), पुणे शहर (२५९), औरंगाबाद शहर (१४५), नागपूर शहर (१४२), सोलापूर शहर (१३५), नवी मुंबई (१०२), नाशिक शहर (७७) व अमरावती शहर (१६) असे गुन्हे दाखल झाले आहेत.

Riots

2.5.13 The 9 cities accounted for 20.22% of all the riots cases reported in the State during 2015. Thane (C) recorded the highest incidences (414) (24.55%) of these cases, followed by Mumbai (C)(396), Pune (C) (259), A'bad (C) (145), Nagpur (C) (142), Solapur (C) (135), Navi Mumbai (C) (102), Nasik (C) (77) and Amravati (C) (16).

आर्थिक गुन्हेगारी

२.५.१४ आर्थिक गुन्हेगारीचा अभ्यास करताना अन्यायाने विश्वासघात, फसवणूक आणि नकली नाणी, नोटा या संदर्भात दाखल गुन्हयांचे विश्लेषण करण्यात आलेले आहे. ९ शहरांमध्ये या शिर्षाखाली दाखल गुन्ह्यांपैकी १२३४ गुन्हे अन्यायाने विश्वासघात करणे (६०.४३%), ६३०८ फसवणूकीचे (६०.१३%) आणि १११ गुन्हे नकली नाणी व नोटा (५८.४२%) या ९ शहरांमध्ये नोंद झालेले आहेत. या ९ शहरांतील वरील तीन शिर्षाखालील गुन्हयांपैकी मुंबई शहरांत अन्यायाने विश्वासघात करणे ७६१ (६१.६६ %), फसवणूक करणे २९३७ (४६.५६ %) आणि नकली नाणी व नोटा संबंधी गुन्हे ५० (४५.०४%) गुन्हे दाखल असल्याचे दिसून येते.

Economic crimes

2.5.14 While studying Economic Crimes we have to consider the crimes reported under Criminal Breach of Trust, Cheating and Counterfeiting in 2015. The 9 large cities accounted for 1234 Criminal Breach of Trust cases (60.43%), 6308 of Cheating cases (60.13%) and 111 of Counterfeiting cases (58.42%). Mumbai (C) accounted for 761 (61.66%) of Criminal Breach of Trust cases, 2937 (46.53%) of Cheating cases and 50 (45.04%) of Counterfeiting cases.

जाळपोळ

२.५.१५ या शिर्षाखाली महाराष्ट्र राज्यात दाखल झालेल्या गुन्हयांपैकी २७२ (२०.९४%) गुन्हे ९ शहरांमध्ये दाखल झालेले आहेत. ९ शहरात दाखल गुन्हयापैकी औरंगाबाद शहर (६७),पुणे शहर (५७), ठाणे शहर (५२), नागपूर शहर (३४), मुंबई शहर (२०), नाशिक शहर (१४) , नवी मुंबई (११), अमरावती शहर (१०) व सोलापूर शहर (७) असे गुन्हे दाखल झालेले आहेत.

Arson

2.5.15 The 9 cities contributed 272(20.94% of the total number of Arson cases reported in the State during 2015. The number of crimes registered in these 9 cities were, A'bad (C) (67), Pune (C) (57), Thane (C) (52), Nagpur (C) (34), Mumbai (C) (20), Nasik (C) (14), Navi Mumbai (C) (11), Amravati (C) (10) & Solapur (C) (7).

गंभीर दुखापत

२.५.१६ सन २०१५ सालात राज्यात या शिर्षाखाली दाखल गुन्हयांपैकी ३००९ (३७.८७%) गुन्हे ९ शहरांमध्ये दाखल झालेले आहेत. प्रामुख्याने मुंबई शहर (१५१२), पुणे शहर (६४९) , ठाणे शहर (२८१) व नागपूर शहर (२३३) या शहरांमध्ये दुखापतीचे जास्त गुन्हे नोंद झालेले आहेत. २०१४ मधील दाखल गुन्हयांच्या तुलनेत २०१५ मध्ये १८.८१% ने घट झालेली आहे.

Grievous Hurt

2.5.16 The 9 cities contributed, 3009 i.e. (37.87%) of all the cases of Hurt reported in the State during 2015. Mumbai (C) (1512), Pune (C) (649), Thane (C) (281) and Nagpur (C) (233) accounted for the major proportion of such cases among the 9 cities. The number of hurt cases reported in the 9 cities during 2015 have a decrease by 18.81% as compared to 2014.

हुंडाबळी

२.५.१७ महाराष्ट्र राज्यात सन २०१५ सालात या शिर्षाखाली दाखल गुन्हयांपैकी ५७ (२१.२६%) गुन्हे ९ शहरांमध्ये दाखल झालेले आहेत. ९ शहरातील एकूण गुन्हयापैकी ८९.४७% वाटा मुंबई शहर, पुणे शहर, नागपूर शहर, ठाणे शहर व नवी मुंबई शहराचा आहे. ९ शहरांमध्ये २०१४ मध्ये दाखल झालेल्या गुन्हयांच्या तुलनेत सन २०१५ साली २३ गुन्हयांनी घट झाल्याचे दिसून येते.

Dowry Death

2.5.17 Dowry Death cases reported in the 9 cities accounted for 57 (21.26%) of all such cases reported in the State during 2015. Mumbai (C), Pune (C) , Nagpur (C), Thane (C) & Navi Mumbai (C) account for 89.47% of all such cases reported in the cities. There was an decrease by 23 cases reported in the 9 cities during 2015 as compared to 2014.

विनयभंग

२.५.१८ विनयभंग या शिर्षाखाली राज्यात दाखल गुन्हयांपैकी ४६६९ (३९.८६%) गुन्हे ९ शहरांमध्ये दाखल झालेले आहेत. सन २०१४ पेक्षा सन २०१५ मध्ये ३०.१२% वाढ झालेली आहे. मुंबई शहर (२००८), पुणे शहर (७०५), ठाणे शहर (५६४), नागपूर शहर (३९२) आणि औरंगाबाद शहर (३८३) या ५ शहरांमध्ये या सदराखाली गुन्हे दाखल होण्याचे प्रमाण जास्त असून ९ शहरातील या सदराखालील दाखल गुन्हयांपैकी ८६.७८% गुन्हे वरील ५ शहरांमध्ये नोंद झालेले आहेत.

Molestation

2.5.18 The number of cases of molestation reported in the 9 cities accounted for cases 4669 (39.86%) of all such cases registered in the State . During 2015 the incidences shows increase by 30.12% over 2014. Cities like Mumbai (C) (2008), Pune (C) (705), Thane (C) (564), Nagpur (C) (392) and A'bad (C) (383) have a larger share of molestation cases. These five cities accounted for 86.78 % of the total cases reported in the 9 Cities.

छेडछाड

२.५.१९ या शिर्षाखाली महाराष्ट्र राज्यात दाखल झालेल्या गुन्हयांपैकी ५९० (५२.७२%) गुन्हे या ९ शहरांमध्ये दाखल झालेले आहेत. २०१५ मध्ये ७.०९% नी या गुन्हयात घट झालेली आहे. ९ शहरांपैकी सर्वात जास्त मुंबई शहर (४१२), त्याखालोखाल पुणे शहर (६६), ठाणे शहर (४१) आणि नवी मुंबई (२५) या शहरांचा क्रम लागतो.

Eve Teasing (Sexual Harassment) (Insult to the modesty of Women)

2.5.19 The number of cases of Eve Teasing reported in 9 cities as a proportion of the total cases reported in the State 590 (52.72%) during 2015. The incidences show decrease by 7.09 % over 2014. Mumbai (C) recorded the highest incidents (412) followed by Pune (C) (66), Thane (C) (41) and Navi Mumbai (C) (25).

पती किंवा त्याचे नातेवाईकांकडून छळ

२.५.२० सन २०१५ मध्ये राज्यात विवाहित स्त्रियांवरील तिचा पती किंवा त्याचे नातेवाईकाकडून छळाबाबत दाखल गुन्हयांपैकी २५२२ (३३.०१%) गुन्हे ९ शहरांमध्ये दाखल झालेले आहेत. मुंबई शहर (६५८), पुणे शहर (३७९), ठाणे शहर (३५७), औरंगाबाद शहर (३४१) व नागपूर शहर (३०९) या ५ शहरांत या शिर्षाखाली जास्त गुन्हे दाखल असून ९ शहरांत या सदराखाली दाखल झालेल्या गुन्हयांपैकी ८१.०५% गुन्हे या पाच शहरात नोंद झालेले आहेत

Cruelty by Husband or his relatives

2.5.20 The number of cases of cruelty to married women by her husband or his relatives reported in the 9 cities accounted for 2522 (33.01%) of all such cases reported during 2015. The incidence of such cases were higher in Mumbai (C) (658), Pune (C) (379), Thane (C) (357), A'bad(C)(341) and Nagpur (C) (309). These five cities accounted for 81.05% of all such cases reported in the 9 cities.

अनैतिक संबंधासाठी मुलींची आयात करणे

२.५.२१ या शिर्षाखाली राज्यात एकही गुन्हा दाखल नाही.

Importation of Girls

2.5.21 There is no case registered under this head in the State.

निष्काळजीपणामुळे मृत्यूस कारणीभूत होणे.

२.५.२२ या शिर्षाखाली राज्यात १३०५८ गुन्हे दाखल असून मोठया शहरांतील गुन्हयांचा वाटा २६२२ म्हणजे राज्याच्या गुन्हयांच्या तुलनेत (२०.०७%) आहे. मुंबई शहरात सर्वात जास्त गुन्हे (५८७) दाखल झाले आहेत. त्याखालोखाल पुणे शहर (५०४), नवी मुंबई (३६७) व ठाणे शहर (३१९), गुन्हे दाखल झालेले आहेत.

Causing Death by negligence

2.5.22 Under this head 13058 cases have been registered in the State during 2015 in which share of large cities is (2622) i.e. 20.07%. Mumbai (C) shows highest number of cases (587), followed by Pune (C) (504), Navi Mumbai (C) (367) & Thane (C) (319) cases.

विशेष आणि स्थानिक कायदयांखालील गुन्हे

२.६.१ विशेष आणि स्थानिक कायद्यांतर्गत ९ मोठया शहरांत सन २०१४ मध्ये दाखल झालेल्या गुन्ह्यांचा व सन २०१५ मधील दाखल गुन्ह्यांची शीर्षनिहाय तुलनात्मक माहिती तक्ता क्र. २.६ मध्ये दर्शविण्यात आली आहे.

Crimes under Special and Local Laws

2.6.1 The comparative figures of cases reported under S.S.L. Acts during 2014 & 2015 in the 9 large cities are shown in Chart No.2.6.

२.६.२ विशेष आणि स्थानिक कायद्यान्वये या ९ शहरांमध्ये सन २०१४ मध्ये ५२३९२ गुन्हयांची नोंद झालेली असून सन २०१५ मध्ये ५७४६३ गुन्हे दाखल झालेले आहेत. या सदराखाली सर्वात जास्त गुन्हे मुंबई शहर २३७३७ दाखल झाले आहेत. नवी मुंबई मध्ये ९०२ सर्वात कमी गुन्हे दाखल झाले आहेत . विशेष आणि स्थानिक कायद्यान्वये सन २०१५ मधे दाखल गुन्ह्यांची राज्यातील दाखल गुन्हयांशी तुलना करता ९ शहरांत ३८.९% गुन्हे दाखल झाले आहेत.

2.6.2 The 9 cities have reported 57463 cases under Special & Local Laws during 2015 as compared to 52392 cases during 2014. During 2015 highest number of cases under S.L.L have been reported in Mumbai (C) (23737) and lowest in Navi Mumbai (C) (902). The 9 cities accounted for 38.9% cases under S.L.L in 2015 as compared to that of the State.

२.६.३ सन २०१५ सालात शस्त्रांसंबंधी कायदा , अनैतिक व्यापार (प्रतिबंध) कायदा , परकीय नागरीक नोंदणी कायदा , दारू बंदी कायदा, स्फोटक पदार्थासंबंधीचा कायदा, भारतीय पारपत्र कायदा, जुगार बंदी कायदा, अबकारी कायदा, हुंडा प्रतिबंधक कायदा व वन अधिनियम कायदा या शीर्षाखाली दाखल झालेल्या गुन्हयात सन २०१४ च्या तुलनेत घट झालेली दिसून येते. तर बालविवाह प्रतिबंधक कायदा , मादक औषधे व अंमली पदार्थाचा कायदा, विदयुत अधिनियम कायदा व वन्यजीव संरक्षण कायदा यामध्ये वाढ झाल्याचे दिसून येते.

2.6.3 During 2015 a decreasing trend is seen in cases under Arms Act, Immoral Traffic [Prevention] Act, Registration Of Foreigners Act, Prohibition Act, Explosives & Explosive Substances Act, Indian Passport Act, Gambling Act, Excise Act, Dowry Prohibition Act & Forest Act. Whereas it shows increase in Prohibition of Child Marriage Act, NDPS Act, Electricity Act & Wildlife Protection Act.

तक्ता क्र. २.६

सन २०१४ व २०१५ मध्ये विशेष व स्थानिक कायद्याखाली दाखल झालेले गुन्हे

Table No. 2.6

Incidences of cases under SLL during 2014 & 2015

Sr. No.	Crime Head	Incidence		Percentage Share in Total	Percentage variation during 2015 over 2014
		2014	2015		
1	2	3	4	5	6
1	Arms Act, 1959	817	726	1.26	-11.13
2	Narcotic Drugs & Psychotropic Substances Act, 1985	14459	18847	32.79	30.34
3	Gambling Act, 1867	2551	3055	5.31	19.75
4	Excise Act, 1944	0	0	0.00	-
5	Prohibition Act	7229	6150	10.70	-14.92
6	Explosives and Explosive Substances Act	4	3	0.00	-25.00
7	Immoral Traffic (Prevention) Act, 1956	186	331	0.57	-77.95
8	Indian Railways Act, 1989	2	1	0.00	-50.00
9	Registration of Foreigners Act, 1939	7	1	0.00	-85.71
10	Protection of Civil Rights Act, 1955	1	11	0.01	1000.00
11	Passport Act, 1967	55	42	0.07	-23.63
12	Essential Commodities Act, 1955	231	309	0.53	33.76
13	Antiquities & Art Treasures Act, 1972	0	0	0.00	-
14	Dowry Prohibition Act, 1961	7	7	0.01	0.00
15	Indecent Representation of Women (Prohibition) Act, 1986	0	0	0.00	-
16	Copyright Act, 1957	236	243	0.42	2.96
17	Protection of Child from Sexual Offences	0	19	0.03	-
18	SC/ST (Prevention of Atrocities) Act, 1989)	74	44	0.07	-40.54
19	Forest Act, 1927	3	4	0.00	33.33
20	Prohibition of Child Marriage Act, 2006	4	7	0.01	75.00
21	Protection of Women from Domestic Violence Act, 2005	0	5	0.00	-
22	Information Technology Act, 2000	235	219	0.38	-6.80
23	Official Secrets Act, 1923	0	0	0.00	-
24	Electricity Act, 2003	144	207	0.36	43.75
25	Wildlife Protection Act, 1972	25	13	0.02	44.00
26	Bonded Labour System (Abolition) Act, 1976	4	4	0.00	0.00
27	Environmental (Protection) Act, 1986	26	17	0.02	-34.61
28	Air (Prevention & Control of Pollution) Act, 1981	0	13	0.02	-

29	Water (Prevention & Control of Pollution) Act, 1974(as amended in 1988)	0	0	0.00	-
30	National Security Act, 1980	0	1	0.00	-
31	Unlawful Activities (Prevention) Act, 1967	0	0	0.00	-
32	Young Persons (Harmful Publications) Act, 1956	0	0	0.00	-
33	Railway Property (Unlawful Possession) Act, 1966	0	0	0.00	-
34	Prevention of Damage to Public Property Act, 1984	82	98	0.17	19.51
35	Transplantation of Human Organs Act, 1994	0	0	0.00	-
36	Trade Marks Act, 1999	2	2	0.00	0.00
37	Prevention of Insults to National Honour Act, 1971	5	3	0.00	-40.00
38	State Emblem (Prohibition of Improper Use) Act, 2005	0	1	0.00	-
39	Lotteries (Regulation) Act, 1998	51	17	0.02	-66.66
40	Citizenship Act, 1955	0	0	0.00	-
41	Foreigners Act, 1946	17	16	0.02	-5.88
42	Place of Worship (Special Provisions) Act, 1991	0	0	0.00	-
43	Religious Institution (Prevention of Misuse) Act, 1988	0	0	0.00	-
44	Representation of People Act, 1951	10	7	0.01	-30.00
45	Emigration Act, 1983	0	0	0.00	-
46	Juvenile Justice (Care and Protection of Children) Act, 2000	34	246	0.42	623.52
47	Infant Substitutes Regulation Act, 2003	0	0	0.00	-
48	Anti-Hijacking Act, 1982	0	0	0.00	-
49	Atomic Energy Act, 1962	1	0	0.00	-100.00
50	Weapons of Mass Destruction (Proh. of Unlawful Activities) Act, 2005	0	0	0.00	-
51	Suppression of Unlawful Acts against Safety of Civil Aviation Act, 1982	0	0	0.00	-
52	Safety of Maritime Navigation Act, 2002	0	0	0.00	-
53	Manual Scavengers and Construction of Dry Latrines (P) Act, 1993	0	0	0.00	-
54	Pre-Natal Diagnostic Techniques (Reg and Prev of Misuse) Act, 1994	0	0	0.00	-
55	The Maritime Zones of India (Reg of Fishing by Foreign Vessels) Act, 1981	0	0	0.00	-
56	Other SLL crimes	25890	26794	46.62	3.49
TOTAL COGNIZABLE CRIMES UNDER SLL		**52392**	**57463**	**100.00**	**9.68**

२.६.४ सन २०१५ मधील विशेष व स्थानिक कायद्यांतर्गत दाखल निरनिराळया गुन्हयांचा शीर्षनिहाय ९ शहरांचा राज्यापैकी वाटा तक्ता क्रमांक २.७ मध्ये दर्शविला आहे.

2.6.4 The percentage share of 9 large cities with that of the State under S.L.L cases (Crime Head Wise) during 2015 is presented in Table 2.7.

तक्ता क्र. २.७

सन २०१५ मध्ये विशेष व स्थानिक कायद्याखाली दाखल गुन्हे

Table No. 2.7

Cases under S.L.L. in the State and Commissionarates with Percentage share of cities during - 2015

Sr. No.	CRIME HEAD	Maharashtra State	Cities	% Share of Cities to Maharashtra
1	2	3	4	5
1	Arms Act, 1959	1253	726	57.94
2	Narcotic Drugs & Psychotropic Substances Act, 1985	18979	18847	99.3
3	Gambling Act, 1867	20171	3055	15.14
4	Excise Act, 1944	0	0	-
5	Prohibition Act	65128	6150	9.44
6	Explosives and Explosive Substances Act	88	3	3.4
7	Immoral Traffic (Prevention) Act, 1956	400	331	82.75
8	Indian Railways Act, 1989	30	1	3.33
9	Registration of Foreigners Act, 1939	1	1	100
10	Protection of Civil Rights Act, 1955	20	11	55
11	Passport Act, 1967	56	42	84
12	Essential Commodities Act, 1955	722	309	42.79
13	Antiquities & Art Treasures Act, 1972	1	0	0
14	Dowry Prohibition Act, 1961	42	7	16.66
15	Indecent Representation of Women (Prohibition) Act, 1986	0	0	-
16	Copyright Act, 1957	371	243	65.49
17	Protection of Child from Sexual Offences	26	19	73.07
18	SC/ST (Prevention of Atrocities) Act, 1989)	340	44	12.94
19	Forest Act, 1927	18	4	22.22
20	Prohibition of Child Marriage Act, 2006	24	7	29.16
21	Protection of Women from Domestic Violence Act, 2005	8	5	62.5
22	Information Technology Act, 2000	348	219	62.93
23	Official Secrets Act, 1923	0	0	0
24	Electricity Act, 2003	996	207	20.78

25	Wildlife Protection Act, 1972	20	12	60
26	Bonded Labour System (Abolition) Act, 1976	5	4	80
27	Environmental (Protection) Act, 1986	46	17	36.95
28	Air (Prevention & Control of Pollution) Act, 1981	42	13	30.95
29	Water (Prevention & Control of Pollution) Act, 1974(as amended in 1988)	1	0	0
30	National Security Act, 1980	1	1	100
31	Unlawful Activities (Prevention) Act, 1967	1	0	0
32	Young Persons (Harmful Publications) Act, 1956	0	0	-
33	Railway Property (Unlawful Possession) Act, 1966	0	0	-
34	Prevention of Damage to Public Property Act, 1984	159	98	61.63
35	Transplantation of Human Organs Act, 1994	0	0	0
36	Trade Marks Act, 1999	3	2	66.66
37	Prevention of Insults to National Honour Act, 1971	11	3	27.27
38	State Emblem (Prohb.of Improper Use) Act, 2005	1	1	100
39	Lotteries (Regulation) Act, 1998	17	17	100
40	Citizenship Act, 1955	0	0	0
41	Foreigners Act, 1946	18	16	88.88
42	Place of Worship (Special Provisions) Act, 1991	0	0	-
43	Religious Institution (Prevention of Misuse) Act, 1988	0	0	0
44	Representation of People Act, 1951	20	7	35
45	Emigration Act, 1983	0	0	-
46	Juvenile Justice (Care and Protection of Children) Act, 2000	251	246	98
47	Infant Substitutes Regulation Act, 2003	0	0	-
48	Anti-Hijacking Act, 1982	0	0	-
49	Atomic Energy Act, 1962	0	0	0
50	Weapons of Mass Destruction (Proh. of Unlawful Activities) Act, 2005	0	0	-
51	Suppression of Unlawful Acts against Safety of Civil Aviation Act, 1982	0	0	-

52	Safety of Maritime Navigation Act, 2002	0	0	-
53	Manual Scavengers and Construction of Dry Latrines (P) Act, 1993	0	0	-
54	Pre-Natal Diagnostic Techniques (Reg and Prev of Misuse) Act, 1994	0	0	0
55	The Maritime Zones of India (Reg of Fishing by Foreign Vessels) Act, 1981	0	0	-
56	Other SLL crimes	38148	26794	70.24
TOTAL COGNIZABLE CRIMES UNDER SLL		**147766**	**57463**	**38.79**

२.६.५ सन २०१५ सालात महाराष्ट्र राज्यात दाखल झालेल्या गुन्हयांपैकी ९ शहरांत मादक औषधे व अंमली पदार्थाचा कायदा (९९.३%), बाल न्याय संरक्षक अधिनियम (९८%), परकीय नागरीक कायदा (८८.८८%), भारतीय पारपत्र कायदा (८४%), अनैतिक व्यापार (प्रतिबंध) कायदा (८२.७५%) व स्वामीत्व हक्क कायदा (६५.४९%) या गुन्हेशीर्षातील दाखल गुन्हयांचा महत्वपूर्ण वाटा आहे.

2.6.5 A large number of cases under NDPS Act (99.3%),Juvenile Justice Act (98%),Foreigners Act (88.88%),Indian Passport Act (84%), Immoral Traffic [prevention] Act (82.75%), Copyright Act (65.49%), have been reported in the 9 cities under S.L.L during 2015 of statewide incidences.

मोठया शहरांतील गुन्हेगारीचा कल

हत्यार अधिनियम व स्फोटक पदार्थ कायदा

२.६.६ सन २०१४ पेक्षा २०१५ मध्ये शस्त्रांसंबंधी कायदा अधिनियमाखाली ९ शहरांमध्ये दाखल झालेल्या गुन्हयांमध्ये (११.१३%) घट झाल्याचे आढळून येते. महाराष्ट्र राज्यात दाखल झालेल्या गुन्हयापैकी (५७.९४%) गुन्हे ९ शहरांमध्ये दाखल झालेले आहेत. नागपूर शहरामध्ये सर्वात जास्त (३१५) गुन्हयांची नोंद असून त्याखालोखाल मुंबई शहर (१२०) आणि पुणे शहर (१११) या शहरांचा क्रम लागतो.

Crime pattern in Large Cities

Arms Act , Explosives & Explosive Substances Act

2.6.6 During the year 2015 there was a decrease under the Arms Act in the 9 cities by (-11.13%) as compared to the year 2014. These 9 cities reported around (57.94%) of the total cases reported in the State during 2015. Nagpur (C) reported the highest (315) cases under Arms Act amongst the 9 cities followed by Mumbai (C) (120) and Pune (C) (111).

स्फोटक पदार्थ कायदा

२.६.७ सन २०१५ मध्ये स्फोटक पदार्थासंबंधीचा कायदयान्वये राज्यात ८८ गुन्हयांची नोंद असून त्यापैकी ३ गुन्हे ९ शहरांमध्ये दाखल आहेत. हे प्रमाण राज्याचे एकूण दाखल झालेल्या गुन्हयांच्या ३.४% इतके आहे.

Explosive & Explosive Substances Act.

2.6.7 During the year 2015 all together 88 Cases have been reported in the State under Explosives & Explosive Substances Act, out of which 3 cases have been reported under this head in 9 cities, which contribute 3.4% of the total cases registered in the State

मादक पदार्थांसबंधीचे गुन्हे

२.६.८ अंमली पदार्थ व मनोव्यापारावर परिणाम करणारे पदार्थ प्रतिबंध कायद्याखाली ९ शहरांमध्ये सन २०१५ मध्ये १८८४७ गुन्हयांची नोंद असून महाराष्ट्र राज्यात या कायद्याखाली दाखल झालेल्या गुन्हयांपैकी ९९.३% गुन्हे शहरांत नोंद झालेले आहेत. सन २०१४ सालात या कायद्याखाली दाखल झालेल्या गुन्हयांशी तुलना करता सन २०१५ सालात ३०.३४% ने वाढ झाल्याचे दिसून येते.

Drug Offences

2.6.8 Under NDPS ACT 18847 cases have been reported in 9 cities, which accounted for 99.3% of total State crime during 2015. The rate of incidence of such cases reported in the cities shows an increase by 30.34% during 2015 as compared to 2014.

२.६.९ मुंबई शहरात सर्वात जास्त १८६२८ गुन्हे (९८.८३%) सन २०१५ मध्ये दाखल आहे. त्याचप्रमाणे या कायद्याखाली महाराष्ट्र राज्यात एकूण दाखल झालेल्या गुन्हयांपैकी ९८.१५% गुन्हे एकट्या मुंबई शहरात नोंद झालेले आहेत. ठाणे शहर (७६), पुणे शहर (५४), नागपूर शहर (५२), नवी मुंबई (२३), नाशिक शहर (७) तसेच अमरावती शहर (६) अशी गुन्हयांची नोंद सन २०१५ सालात झालेली आहे.

2.6.9 Number of cases reported under this head in different 9 Cities shows that Mumbai (C) reported the highest number of cases 18628 (98.83%). Out of total crimes in the State 98.15% crime have been reported in Mumbai (C) alone during 2015 followed by Thane (C) (76), Pune (C) reported (54), Nagpur (C) (52),Navi Mumbai (C) (23), Nasik (C) (7) & Amravati (C) (6) under this Act in 2015.

जुगार कायदा विषयक गुन्हे

२.६.१० सन २०१५ सालात राज्यात जुगारसंबंधी कायदयाखालील दाखल झालेल्या गुन्हयांपैकी १५.१४% गुन्हे ९ शहरांमध्ये दाखल झालेले आहेत. या कायद्याखाली झालेल्या कारवाईमध्ये सन २०१४ पेक्षा सन २०१५ मध्ये १९.७५% ने वाढ झालेली आहे. नागपूर शहर मध्ये सर्वात जास्त (१०१७) गुन्हयांची नोंद झाली असून ९ शहरांत या कायद्याखाली दाखल झालेल्या गुन्हयांपैकी ३३.२९% गुन्हे नागपूर शहरात नोंदले गेले आहेत. त्या खालोखाल मुंबई शहर (५६५), पुणे शहर (४१२), सोलापूर शहर (३४४), अमरावती शहर (२८५), ठाणे शहर (१४२), नाशिक शहर (१२४), नवी मुंबई (७९) आणि औरंगाबाद शहर (६५)या शहरांत या गुन्हयांची नोंद झालेली आहे.

Cases under Gambling Act.

2.6.10 The number of offences reported under the Gambling Act during 2015 in the 9 cities accounted for 15.14% of all such offences reported statewide. The incidences of such cases during 2015 shows an increase by 19.75% over 2014. Nagpur (C) reported the highest cases (1017), 33.28% cases reported in all 9 cities, followed by Mumbai (C) (565), Pune (C) (412),Solapur (C) (344), Amravati (C) (285), Thane (C) (142), Nasik (C) (124), Navi Mumbai (79) & A.bad (65).

दारूबंदी कायद्याखालील गुन्हे

२.६.११ राज्यात या कायद्याखाली दाखल झालेल्या गुन्हयांपैकी ९.४४% गुन्हे ९ शहरांमध्ये नोंद झालेले आहेत. पुणे शहर सर्वात जास्त (१३७६) गुन्हयांची नोंद झाली असून ९ शहरांत दाखल गुन्हयांपैकी २२.३७ % गुन्हे पुणे शहरात नोंद झाले आहेत. त्यापाठोपाठ नागपूर शहर (१३३६) (२१.७२%), अमरावती शहर (७७४) (१२.५८%), मुंबई शहर (५७४) (९.३३%), औरंगाबाद शहर (४०७) (६.६१%), सोलापूर शहर (७१९) (११.६९%), ठाणे शहर (३७८) (६.१४ %)आणि नवी मुंबई (३५३) (५.७३ %) या शहरांमध्ये गुन्हे नोंद झालेले आहेत.

Prohibition Act

2.6.11 The number of offences reported under Prohibition Act in the 9 cities during 2015 were 9.44% of Statewide incidences. Pune (C) (1376) reported the highest cases (22.37%) of Prohibition Act followed by Nagpur (C) (1336)(21.72%), Amravati (C) (774) (12.58%), Mumbai City (574) (9.33%), A.bad City (407)(6.61%), Solapur (C) (719) (11.69%) , Thane (C) (378) (6.14%) & Navi Mumbai (353) (5.73%).

अनैतिक व्यापार विषयक गुन्हे

२.६.१२ अनैतिक व्यापार (प्रतिबंध) कायदा ही प्रामुख्याने नागरी भागातील विशिष्ट अशी गुन्हेगारी आहे. राज्यात या कायद्याखाली दाखल गुन्हयांपैकी ८२.७५% वाटा या ९ शहरांचा आहे. ९ शहरामध्ये दाखल गुन्ह्यांपैकी ४०.७८% वाटा (१३५) नागपूर शहरातील आहे.

Immoral Traffic Offences

2.6.12 Immoral Traffic [Prevention] Act is a predominantly urban phenomenon. The 9 Cities contributed 82.75% to the State share. Out of total offences registered in 9 cities, 40.78% offences have been registered in Nagpur (C) alone (135).

परदेशी नागरिक नोंदणी व पारपत्र कायदा विषयक गुन्हे

२.६.१३ परकीय नागरीक नोंदणी कायदा नुसार सन २०१५ सालात एकच गुन्हा दाखल असून तो मुंबई शहरांमध्ये दाखल झाला आहे.

२.६.१४ सन २०१५ मध्ये भारतीय पारपत्र कायदा खाली महाराष्ट्र राज्यात एकूण ५६ गुन्हयांची नोंद असून त्यापैकी (४२) ७५% गुन्हे ९ शहरांमध्ये दाखल आहेत. पैकी २० गुन्हयांची नोंद मुंबई शहरात झालेली आहे.

Offences under Registration of Foreigners Act & Passport Act.

2.6.13 Only one case under the Registration Of Foreigners Act in the reported in the State during 2015 and that was reported in Mumbai (C).

2.6.14 During 2015, the share of offences under the Indian Passport Act in the 9 Cities was 42 i.e. 75% of the total cases reported in the State (56), Mumbai (C) reported 20 out of these 42 cases.

स्त्रियांचे असभ्य प्रदर्शन प्रतिबंध कायदा

२.६.१५ या कायद्याखाली राज्यात व शहरात एकही गुन्हा दाखल झालेला नाही.

Indecent Representation of Women (Prohibition) Act.

2.6.15 No case registered in 9 cities & state under this act during 2015.

स्वामीत्व हक्क कायदा

२.६.१६ या कायद्याखाली मूलतः नागरी भागामध्येच गुन्हे घडतात. सन २०१५ सालात राज्यात दाखल गुन्हयापैकी ६५.४९% गुन्हे ९ शहरोंमध्ये नोंदले गेले आहेत. सर्वात जास्त गुन्हे मुंबई शहर (१२३), पुणे शहर (५३), ठाणे शहर (२३), नवी मुंबई (१५) व नागपूर शहर (१५) या शहरांमध्ये दाखल झालेले आहेत.

Copy Right Act

2.6.16 Cases under Copyright Act predominantly take place in urban areas. The 9 cities contributed 65.49% of all such offences reported in the State during 2015. Highest number of cases under this Act have been reported from Mumbai (C) (123), Pune (C) (53), Thane (C) (23), Navi Mumbai (C) (15) and Nagpur (C) (15).

वन अधिनियमाखालील गुन्हे

२.६.१७ राज्यात या कायद्याखाली १८ गुन्हयांची नोंद झालेली असून पैकी फक्त ४ गुन्हे शहरी विभागात दाखल आहेत.

२.६.१८ ९ शहरांमध्ये विशेष व स्थानिक कायद्याखालील दाखल गुन्हयांची व राज्यात दाखल गुन्हयांची टक्केवारी आलेख २.३ वरून दृष्टिक्षेपात येईल.

Offences under the Forest Act

2.6.17 In all 18 cases have been reported in the State under the Forest Act. The Cities accounted for 4 of these cases.

2.6.18 The percentage share of offences registered under Special and Local Laws in large cities in the context of Statewide reported cases under these laws is shown in the Chart No.2.3.

आलेख क्र. २.३

सन २०१५ मधील ९ शहरांच्या विशेष व स्थानिक कायद्यांतर्गत गुन्हयांची टक्केवारी दर्शविणारा आलेख

Chart No. 2.3

Graph showing Percentage share of 9 cities towards various SLL offences during 2015

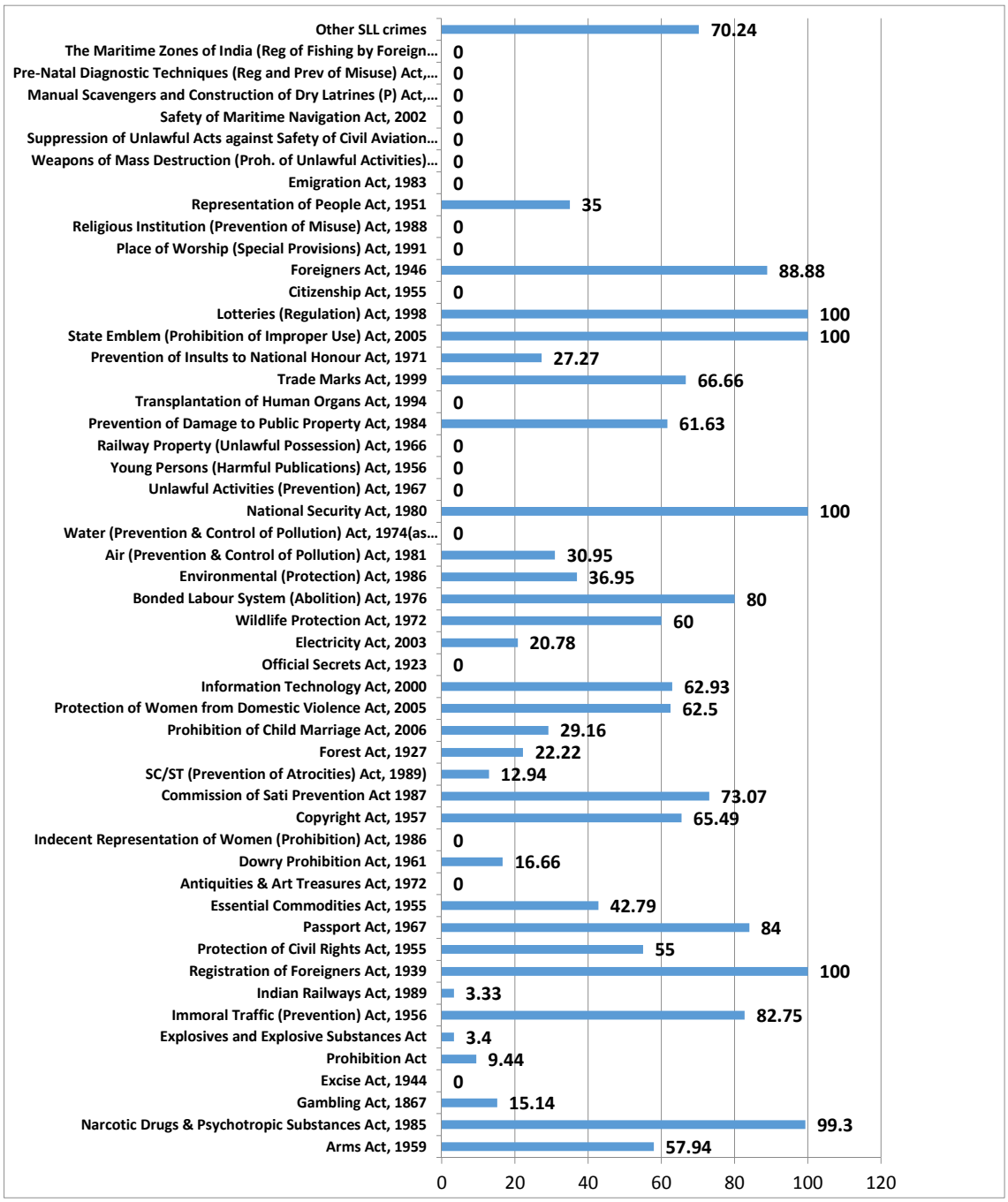

प्रकरण - ३

हिंसामय गुन्हे

३.१.१ हिंसा ही समाजाला चिंता करावयास लावणारी बाब आहे. हिंसामय गुन्ह्यांच्या घटनांचा जनतेच्या जीवित आणि स्वातंत्र्य या मूलभूत हक्कांवर परिणाम होत असतो.

३.१.२ दाखल झालेल्या सर्वसाधारण गुन्हयांपासून हिंसामय गुन्हे वेगळे करून स्वतंत्रपणे त्याची मीमांसा करण्याचा प्रयत्न मागील वर्षाप्रमाणे या वर्षी देखील केलेला आहे. अशा प्रकारच्या मीमांसेसाठी विशेषत्वे, हिंसात्मकरीत्या केलेल्या गुन्ह्यांचा गट तयार करून त्यांची "हिंसामय गुन्हे" या शीर्षाखाली या प्रकरणात मीमांसा केली आहे.

हिंसामय गुन्ह्यांसाठी विचारात घेतलेली सांख्यिकी माहिती

३.१.३ सदर प्रकरणात गुन्हे मीमांसेसाठी भारतीय दंडविधानाप्रमाणे पोलीस यंत्रणेकडे दाखल झालेल्या गुन्हयांपैकी ज्या गुन्हयांची वर्गवारी "हिंसामय गुन्हे" म्हणून करण्यात आलेली आहे ते खालील प्रमाणे.

१) हिंसामय गुन्हे- जीवितावर परिणाम करणारे

१) खून

२) खुनाचा प्रयत्न

३) सदोष मनुष्यवध

४) हुंडा बळी

५)अपहरण व पळवून नेणे.

२) हिंसामय गुन्हे - मालमत्तेवर परिणाम करणारे

१) दरोडा

२) दरोडा घालण्याची पुर्व तयारी करणे.

३) जबरी चोरी

३) हिंसामय गुन्हे -सार्वजनिक सुरक्षिततेवर परिणाम करणारे

१) दंगा

२) जाळपोळ

४) हिंसामय गुन्हे - स्त्रियांवर परिणाम करणारे

१) बलात्कार

२) बलात्काराचा प्रयत्न

CHAPTER - 3

VIOLENT CRIMES

3.1.1 Violence is an issue of great concern to the society as it affects the fundamental rights such as life and liberty of a person.

3.1.2 As in previous year, this is an attempt to statistically analyse incidences of violent crimes separately. Hence, offences, which are particularly violent in nature, have been grouped and analysed in this chapter under the head "VIOLENT CRIMES".

Statistical data used for the Head of Violent Crimes

3.1.3 Among all the Crimes registered by the police for analysis, the following IPC Crimes have been categorized as "Violent Crimes" in this chapter.

1) Violent Crimes affecting life.

i) Murder

ii) Attempt to Commit Murder

iii) Culpable Homicide not amounting Murder.

v) Dowry Deaths.

vi) Kidnapping & Abduction.

2) Violent Crimes affecting property

i) Dacoity

ii) Making Preparation and Assembly for committing Dacoity

iii) Robbery

3) Violent Crimes affecting public safety

i) Riots

ii) Arson

4) Violent Crimes affecting women

i) Rape.

ii) Attempt to commit Rape

सन २०१३ - २०१५ भा.दं.वि.खालील विविध हिंसामय गुन्हयांच्या टक्केवारीची विभागणी

३.२.१ सन २०१५ मध्ये भादंवि प्रमाणे दाखल एकूण गुन्हयांत हिंसामय गुन्हयांचा वाटा ३७२९० (१३.५४%) आहे. सन २०१३ मध्ये ३२५५२ (१३.८९%) व २०१४ मध्ये ३२५७४ (१३.०४%) अशा प्रकारची टक्केवारी होती. २०१५ मध्ये राज्यात एकूण दाखल ३७२९० (१३.५४%) हिंसामय गुन्हयांपैकी जीवितावर परिणाम करणारे हिंसामय गुन्हे १३८७८ (३७.२२%) सार्वजनिक मालमत्तेवर परिणाम करणारे हिंसामय गुन्हे ९६२० (२५.८०%), सार्वजनिक सुरक्षिततेवर परिणाम करणारे हिंसामय गुन्हे ९६३५(२५.८४%), आणि स्त्रियांवर परिणाम करणारे हिंसामय गुन्हे ४१५७ (११.१५%) घडले आहेत.

Percentage Distribution of Various I.P.C. Violent Crimes During 2013- 2015

3.2.1 During 2015 , Violent Crimes reported in the State made up 37290 (13.54%) of the total IPC crimes. During the year 2013 this proportion was 32552 (13.89%) and during the year 2014 it was 32574 (13.04%). During the year 2015, 37290 (13.54%) violent crimes have been reported in the State. Out of them, 13878 (37.22%) crimes were affecting life. The percentage of violent crimes affecting property during the period was 9620 (25.80%), those affecting public safety 9635 (25.84%), and violent crimes affecting women were 4157 (11.15%).

हिंसामय गुन्हयांचा आकृतिबंध

३.२.२ सन २०१३-२०१५ चा हिंसामय गुन्हयांचा आकृतिबंध पाहता, सन २०१५ मध्ये हिंसामय गुन्हयांत सन २०१३ या तुलनेने १४.५६% वाढ व सन २०१४ च्या तुलनेने १४.४८% वाढ आढळून येते.

Pattern of Violent Crimes

3.2.2 Incidences of violent crimes during 2015 have increased as compared to 2013 by (14.56%) and it is increased by (14.48%) as compared to 2014.

तक्ता क्र. ३.१

सन २०१३ - २०१५ मध्ये नोंदलेले हिंसामय गुन्हे

Table No. 3.1

Violent Crimes Reported During 2013-2015

Sr. No.	Crimes	Year		
		2013	2014	2015
[1]	[2]	[3]	[4]	[5]
1	**Total Violent Crimes**	**32552 [13.89%]**	**32574 [13.04%]**	**37290 (13.54)**
2	Affecting Life	8103 (24.89%)	9537 (29.28%)	13878 (37.22%)
3	Affecting Property	10579 (32.5%)	10644 (32.68%)	9620 (25.80%)
4	Affecting Public Safety	10807 (33.2%)	8940 (27.45%)	9635 (25.84)
5	Affecting Women	3063 (9.41%)	3453 (10.60%)	4157 (11.15%)

Note : 1. **[ ]** Bracketed figures represent the share of crimes to total IPC crimes.
2. **( )** Bracketed figures represent the share of crimes to total violent crimes.

३.२.३ सन २०१४ व २०१५ या दोन वर्षांची तुलना करता जीवितावर परिणाम करणारे, मालमत्तेवर परिणाम करणारे व स्त्रियांवर परिणाम करणा-या हिंसामय गुन्ह्यांमध्ये २०१४ पेक्षा २०१५ मध्ये वाढ झाली आहे, तर सार्वजनिक सुरक्षिततेवर परिणाम करणाऱ्या हिंसामय गुन्ह्यांमध्ये २०१४ पेक्षा २०१५ मध्ये घट झाली आहे.

3.2.3 In comparision of 2014 with 2015 increasing trend is observed during 2015 than 2014 for violent crime affecting life, affecting public safety, affecting women. whereas there is decrease in violent crime affecting property.

हिंसामय गुन्हयांची व्याप्ती

३.२.४ सन २०१५ मध्ये ३७२९० (१३.५४%) हिंसामय गुन्हयांच्या घटना राज्यात दाखल झालेल्या असून, सन २०१४ मधील ३२५७४ (१३.०४%) च्या तुलनेने एकुण गुन्हयांत वाढ झालेली (१४.४८ %) दिसून येते. हिंसामय गुन्हयांच्या वेगवेगळया प्रकारच्या गुन्हयांत सन २०१४ च्या तुलनेने चालू वर्षात आढळून आलेली तफावत खालील तक्त्यामध्ये दाखविली आहे.

Incidences of Violent Crimes.

3.2.4 37290 (13.54%) violent IPC crimes have been reported in the State during 2015 as against 32574 (13.04%) during 2014. Violent crimes have thereby increased by (14.48 %). The various categories of violent crimes and their variation of percentage during 2014 as compared to 2015 is given in the following table.

तक्ता क्र ३.२

सन २०१४ च्या तुलनेने २०१५ मधील हिंसामय गुन्हयांच्या तफावतीची टक्केवारी

Table No. 3.2.

Variation Of Percentage In Violent Crimes During 2015 As Compared To 2014

Sr. No.	VIOLENT CRIMES	YEAR		% CHANGE DURING 2015 AS COMPARED TO 2014
		2014	2015	
[1]	[2]	[3]	[4]	[5]
1	Affecting Life	9537	13878	45.51
2	Affecting Property	10644	9620	-9.62
3	Affecting Public Safety	8940	9635	7.77
4	Affecting Women	3453	4157	20.39

३.२.५ संपूर्ण राज्य पातळीवर भादंवि कायद्याखाली दाखल हिंसामय गुन्ह्यांच्या प्रमाणात (एक लाख लोकसंख्येमागे दाखल गुन्हे) सन २०१५ मध्ये (३१.३०), सन २०१४ (२७.६८) च्या तुलनेत वाढ आहे. २०१३ ते २०१५ या कालावधीतील संपूर्ण राज्यातील हिंसामय गुन्ह्यांचे प्रमाण (क्राईम रेट) खालील तक्त्यामध्ये दाखविले आहे.

3.2.5 State-wide violent crimes rate (per Lakh population) during 2015 (31.30) has increased as compared to (27.68) during 2014. The following table denotes the State - wise crime rate recorded for the various categories of violent crimes for the years 2013 to 2015 .

तक्ता क्र. ३.३

सन २०१३ - २०१५ मध्ये भा.दं.वि. अंतर्गत हिंसामय गुन्ह्यांचे प्रमाण

Table No. 3.3

Crime Rate For Violent Crimes Under Ipc During 2013-2015

Sr.No	Violent Crimes	2013	2014	2015
[1]	[2]	[3]	[4]	[5]
1	Affecting Life	6.97	8.10	11.65
2	Affecting Property	9.10	9.04	8.08
3	Affecting Public Safety	9.29	7.60	8.09
4	Affecting Women	2.63	2.93	3.48
5	Total Violent Crimes	28.00	27.68	31.30

हिंसामय गुन्हयांचा घटकनिहाय कल

३.३.१ जिल्हा / आयुक्तालय हद्दीत हिंसामय गुन्ह्यांच्या घटना व प्रमाण तक्ता क्र. १३ मध्ये दर्शविण्यात आलेला आहे. मुंबई शहरात सर्वात जास्त (४९०७) हिंसामय गुन्हे दाखल झाले असून संपूर्ण राज्यात दाखल झालेल्या हिंसामय गुन्ह्यांतील मुंबई शहराचा वाटा १३.१६ % आहे. अन्य घटकांत दाखल झालेले हिंसामय गुन्हे : ठाणे शहर ३०६३ (८.२१%), पुणे शहर २४२१ (६.४९%), पुणे ग्रामीण १८२५ (४.८९%), अहमदनगर १५२९ (४.१०%), नागपूर शहर १३८५ (२.९०%), पालघर ११४५ (३.०७%) सातारा १०८२ (२.९०%). नाशिक ग्रामीण १११३ (२.९८%), कोल्हापूर १००५ (२.७०%), सोलापूर ग्रामीण १००४ (२.६९%), नवी मुंबई ९०२ (२.४२%), बीड ८६७ (२.३३%), औरंगाबाद शहर ८३५ (२.२४%), जळगाव ८०३ (२.१५%), ठाणे ग्रामीण ७७६ (२.०८%), यवतमाळ ७४९ (२.०९%), सांगली ७०४ (१.८९%), औरंगाबाद ग्रामीण ६९६ (१.८७%), नांदेड ६८५ (१.८४%), लातुर ६०० (१.६१%).

Violent offences trend - Unitwise.

3.3.1 The District / Commissionerate - wise incidences and percentage share of violent crimes under IPC during 2015 is given in Table No.13. Mumbai (C) reported the highest incidences with 4907 cases i.e. 13.16% of all such cases reported in the State during this year. The Commissionerates and Districts that contributed violent crimes significantly during this year were : Thane (C) 3063 (8.21%), Pune (C) 2421 (6.49%), Pune (R).1825 (4.89%), Ahamadnagar 1529 (4.10%), Nagpur (C) 1385 (3.71%), Palghar 1145 (3.07), Satara 1082 (2.90), Nashik (R) 1113 (2.98%), Kolhapur 1005 (2.70%), Solapur(R) 1004 (2.69%), Navi Mumbai 902 (2.42%), Beed 867 (2.33%) Aurangabad Commr., 835 (2.24%), Jalgon 803 (2.15%), Thane Rural 776 (2.08), Yavatmal 749 (2.09%), Sangli 704 (1.89%), Aurangabad Rural 696 (1.87%), Nanded 685 (1.84%), Latur 600 (1.61%)

तक्ता क्र. ३.४

हिंसामय गुन्हयांच्या घटनांच्या प्रमाणानुसार घटकांचे वर्गीकरण

Table No. 3.4.

Classification Of Units According To Range Of Incidences Of Voilent Offences

Sr. No.	Incidence Range	No.	District/ Commissionerate
1	Above 1000	11	Mumbai Commr.,Thane Commr.,Pune Commr.,Pune Rural, Ahmednagar, Nagpur Commr., Palghar, Satara, Nasik (R), Kolhapur, Solapur (R).
2	600 to 999	10	Navi Mumbai, Aurangabad Commr., Beed, Jalgaon, Thane Rural, Yawatmal, Sangli, Aurangabad Rural, Nanded, Latur.
3	400 to 599	11	Mumbai Railway, Nasik Commr., Amravati Rural, Jalna, Chandrapur, Buldhana, Parbahni, Osmanabad, Raigad, Solapur Commr., Akola.
4	200 to 399	11	Nagpur Rural, Dhule, Wardha, Washim, Amravati Commr., Hingoli, Ratnagiri, Gondia, Nandurbar, Gadchiroli, Bhandara.

गुन्ह्याचे प्रमाण

३.४.१ सन २०१५ मध्ये घटक-निहाय दाखल झालेले हिंसामय गुन्हे, एकूण भादंवि कायद्याखालील दाखल गुन्ह्यांतील हिंसामय गुन्ह्यांची टक्केवारी आणि हिंसामय गुन्ह्यांचे प्रमाण याबाबतची माहिती तक्ता क्र. १३ मध्ये दिलेली आहे. सन २०१५ मध्ये राज्य पातळीवर हिंसामय गुन्ह्यांचे प्रमाण (३१.३०) आहे. अशा गुन्ह्यांचे उच्चतम प्रमाण ठाणे शहर (६०.२१), औरंगाबाद शहर (५२.२२), नागपूर शहर (५१.२२), नवी मुंबई (४२.१९), पुणे शहर (४२.१८), पुणे ग्रामीण (४१.०३), सोलापूर शहर (३९.९०), मुंबई शहर (३८.८५), अमरावती शहर (३७.०२), पालघर (३६.२२), सातारा (३३.९८), नाशिक शहर (३३.१४) ठाणे ग्रामीण (३२.३७) अहमदनगर (३१.८४) या १४ घटकांमध्ये हिंसामय गुन्हयांचे प्रमाण राज्य गुन्हे प्रमाणाच्या तुलनेत (३१.३०) अधिक आहे. राज्य पातळीवर हिंसामय गुन्हे (२७.६८) प्रमाणापेक्षा अधिक व कमी प्रमाण दर्शविणा-या घटकांची माहिती खालील तक्त्यात दिलेली आहे.

Crime Rate

3.4.1 The District and Commissionerate-wise incidences of violent crimes under IPC during 2015, its percentage share in all IPC crimes reported in the respective Districts / Commissionerates and the crime - rate for the violent crimes is presented in Table No.13. During 2015 the crime rate of violent crimes for the State as a whole was 31.30. The highest individual crime rates have been recorded in Thane (C) (60.21),Aurangabad (C) (52.22), Nagpur (C) (51.22), Navi Mumbai (42.19), Pune (C) (42.18), Pune (R) (41.03), Solapur (C) (39.90), Mumbai (C) (38.85), Amravati (C) (37.02), Palghar (36.22), Satara (33.98), Nashik (C) (33.14) Thane (R) (32.37) & Ahmednagar (31.84)These 14 Districts/ Commissionerates have recorded higher violent crime rate than that of State Crime Rate. (31.30). The Districts/ Commissionerates having crime rate Below and Above State crime rate are shown in the following table 3.5

तक्ता क्र. ३.५

सन २०१५ मध्ये जिल्हा/आयुक्तालय - निहाय हिंसामय गुन्ह्यांचे प्रमाण

(राज्य सरासरी : ३१.३०)

Table No. 3.5

Crime Rate for Violent Crimes in Dists./Commrs. during 2015

(State Average : 31.30)

Sr. No.	Above State Average Dists/Commrs.	Crime Rate	Sr. No.	Below State Average Dists/Commrs.	Crime Rate
1	Thane Commr.	60.21	1	Beed	31.24
2	Aurangabad Commr.	52.22	2	Aurangabad Rural	29.35
3	Nagpur Commr.	51.22	3	Solapur Rural	28.10
4	Navi Mumbai	42.19	4	Osmanabad	27.70
5	Pune Commr.	42.18	5	Jalna	26.42
6	Pune Rural	41.03	6	Raigad	25.79
7	Solapur Commr	39.90	7	Amravati Rural	25.74
8	Mumbai Commr.	38.85	8	Washim	25.51
9	Amravati Commr.	37.02	9	Yavatmal	25.33
10	Palghar	36.22	10	Prabhani	24.95
11	Satara	33.98	11	Hingoli	24.52
12	Nasik Commr	33.14	12	Kolhapur	24.38
13	Thane Rural	32.37	13	Wardha	24.26
14	Ahmednagar	31.84	14	Sangli	23.38
			15	Nasik Rural	23.37
			16	Latur	22.81
			17	Chandrapur	22.18
			18	Akola	20.91
			19	Nanded	19.04
			20	Gadchiroli	19.44
			21	Buldhana	18.34
			22	Ratnagiri	17.89
			23	Jalgaon	17.77
			24	Nagpur Rural	17.73
			25	Bhandara	17.47
			26	Dhule	17.26
			27	Gondia	16.43
			28	Sindhudurg	15.53
			29	Nandurbar	12.76

आलेख क्र. ३.१

सन २०१५ मध्ये जिल्हा /आयुक्तालय-निहाय हिंसामय गुन्हयांचे प्रमाण

Chart No. 3.1

Rate Of Violent Crimes In Districts / Commissionerates During 2015

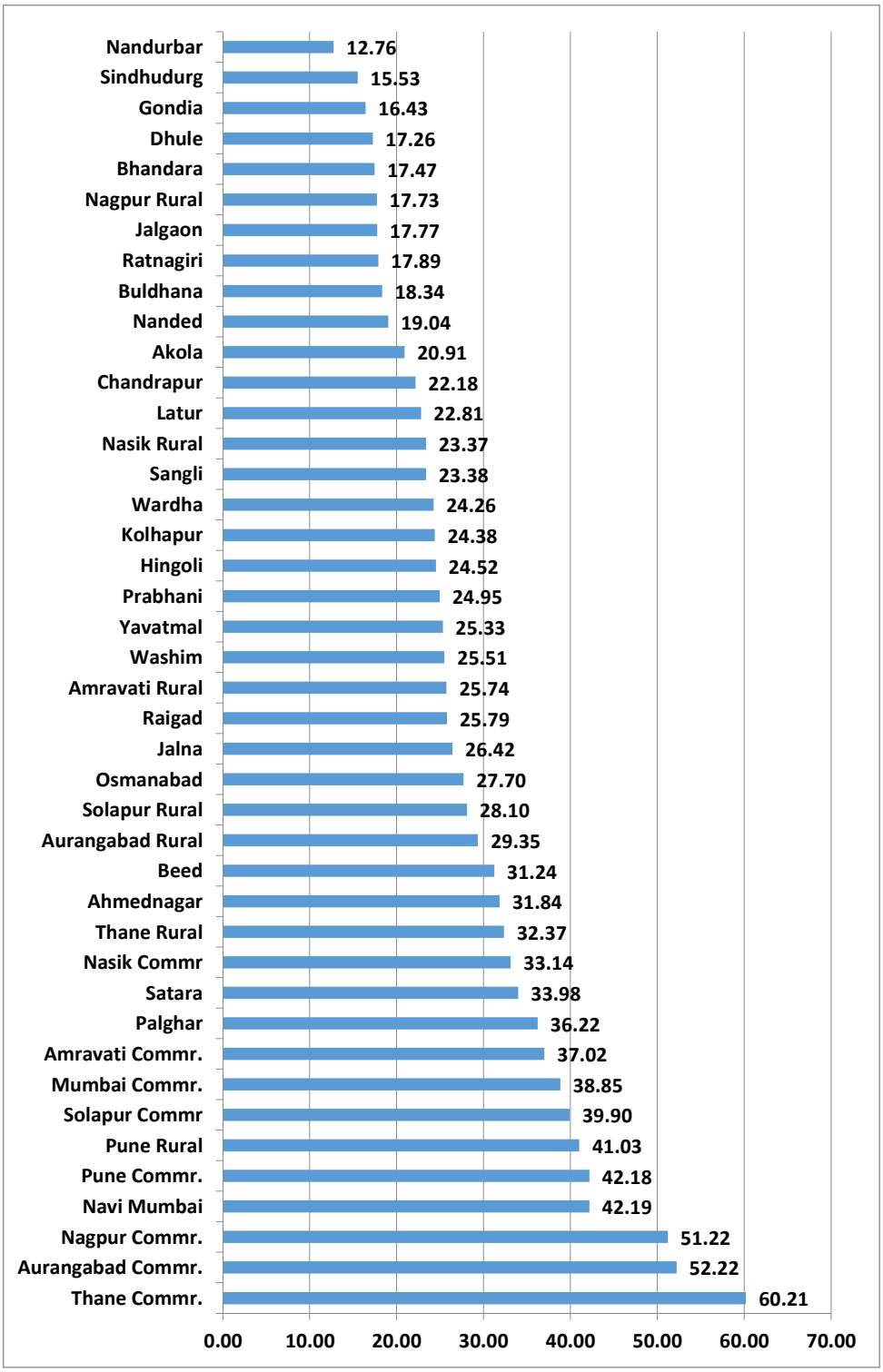

आलेख क्र. ३.२

जिल्हा/आयुक्तालय - निहाय हिंसामय गुन्हयांच्या टक्केवारीची माहीती

Chart No. 3.2

Districts / Commissionerates - Wise Percentage Contribution Of Violent Offences.

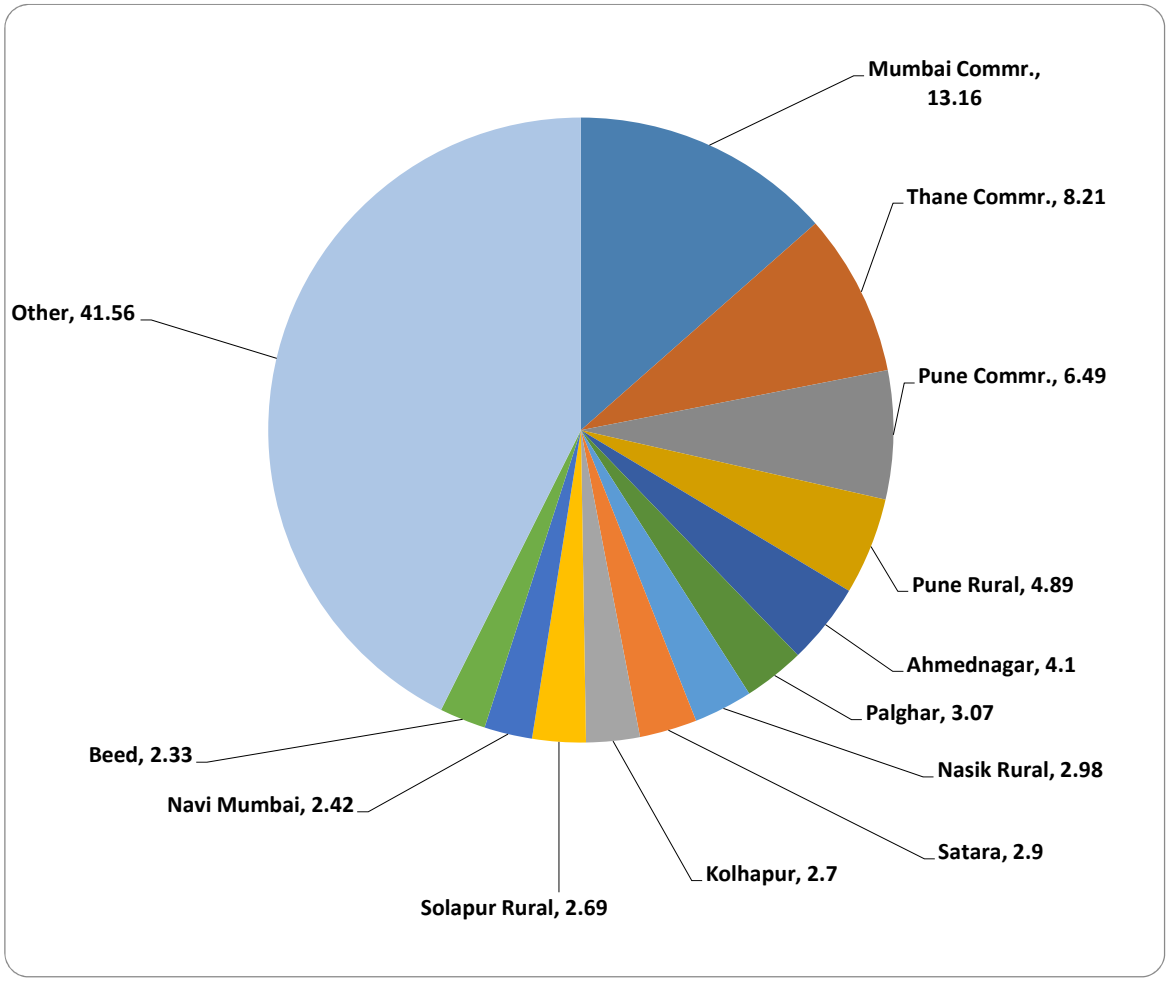

संपूर्ण भादंवि खालील दाखल गुन्हयात हिंसामय गुन्हयांचा वाटा

३.४.२ सन २०१५ मध्ये जिल्हा/आयुक्तालय हद्दीत भादंवि खाली एकूण दाखल गुन्हयांतील हिंसामय गुन्ह्यांची टक्केवारी तक्ता क्र.३.६ मध्ये दर्शविली आहे.

Share of Violent Offences in total reported IPC offences

3.4.2 The proportion of violent crimes in total IPC crimes reported in various Districts / Commissionerates during 2015 is tabulated in Table No. 3.6.

तक्ता क्र. ३.६

सन २०१५ मध्ये भा.दं.वि. खालील दाखल गुन्ह्यांत हिंसामय गुन्हयाच्या वाट्याची टक्केवारी

(राज्य सरासरी : १३.५४)

Table No. 3.6

Percentage Share Of Violent Crimes In The Total IPC Crimes During 2015

(State average : 13.54)

Units with Percentage Share Above the State Average			Units with Percentage Share Below the State Average		
Sr.No.	**Dists/Commrs.**	**% Share**	**Sr.No**	**Dists/Commrs.**	**% Share**
1	Palghar	21.43	1	Aurangabad Rural	13.47
2	Thane Commr.	20.15	2	Ratnagiri	13.21
3	Thane Rural	19.37	3	Latur	13.00
4	Ahmednagar	19.09	4	Nagpur Commr.	12.57
5	Kolhapur	16.45	5	Gondia	12.27
6	Nandurbar	16.35	6	Jalgaon	12.15
7	Satara	16.30	7	Nanded	12.12
8	Hingoli	15.97	8	Parbhani	12.05
9	Solapur Commr.	15.87	9	Washim	11.85
10	Beed	15.82	10	Aurangabad Commr.	11.84
11	Pune Commr.	15.77	11	Chandrapur	11.74
12	Sindhudurg	15.75	12	Mumbai Commr.	11.43
13	Raigad	15.48	13	Sangli	11.14
14	Pune Rural	15.46	14	Bhandara	11.01
15	Nasik Rural	15.39	15	Buldhana	10.11
16	Jalna	15.28	16	Yavatmal	9.19
17	Navi Mumbai	15.06	17	Akola	9.04
18	Gadchiroli	14.81	18	Nagpur Rural	8.93
19	Osmanabad	14.75	19	Wardha	8.23
20	Nasik Commr.	14.56	20	Amravati Rural	7.59
21	Pune Railway	13.97	21	Amravati Commr.	7.09
22	Dhule	13.88	22	Nagpur Railway	5.44
23	Solapur Rural	13.78			
24	Mumbai Railway	13.77			

३.४.३ सन २०१५ मध्ये पालघर, ठाणे शहर, ठाणे ग्रामीण, अहमदनगर, कोल्हापूर, नंदूरबार, सातारा, हिंगोली, सोलापूर शहर, बीड, पुणे शहर, सिंधुदुर्ग, रायगड, पुणे ग्रामीण, नाशिक ग्रामीण, जालना, नवी मुंबई, गडचिरोली, उस्मानाबाद, नाशिक शहर, पुणे रेल्वे, धुळे, सोलापूर ग्रामीण, मुंबई रेल्वे या घटकांतील हिंसामय गुन्ह्यांचा भादंवि खाली दाखल झालेल्या एकूण गुन्ह्यांतील टक्केवारी वाटा, राज्य पातळीवरील सरासरी टक्केवारी वाट्यापेक्षा जास्त आहे. घटक-निहाय हिंसामय गुन्ह्यांचा एकूण गुन्ह्यांतील टक्केवारी वाटा दर्शविणारा आलेख क्र. ३.६ (अ) खालील प्रमाणे आहे.

3.4.3 Percentage share of Violent crimes in the total IPC crimes during 2015 was above state average in Palghar, Thane (C), Thane (R), Ahamadnagar, Kolhapur, Nandurbar, Satara, Hingoli, Solapur (C), Beed, Pune (C), Sindhudurg, Raigad, Pune (R), Nashik (R), Jalna, Navi Mumbai, Gadchiroli, Osmanabad, Nasik (C), Pune Railway, Dhule, Solapure (R), Mumbai Railway. Following Chart No. 3.6 (A) shows unit-wise percentage share of violent crimes in total crimes.

आलेख क्र.३.६ (अ)

सन २०१५ मध्ये घटक - निहाय एकूण गुन्ह्यांमध्ये हिंसामय गुन्ह्यांचे शेकडा प्रमाण

Chart - 3.6 (A)

Unit-Wise Percentage Share Of Violent Crimes In Total Crimes During 2015

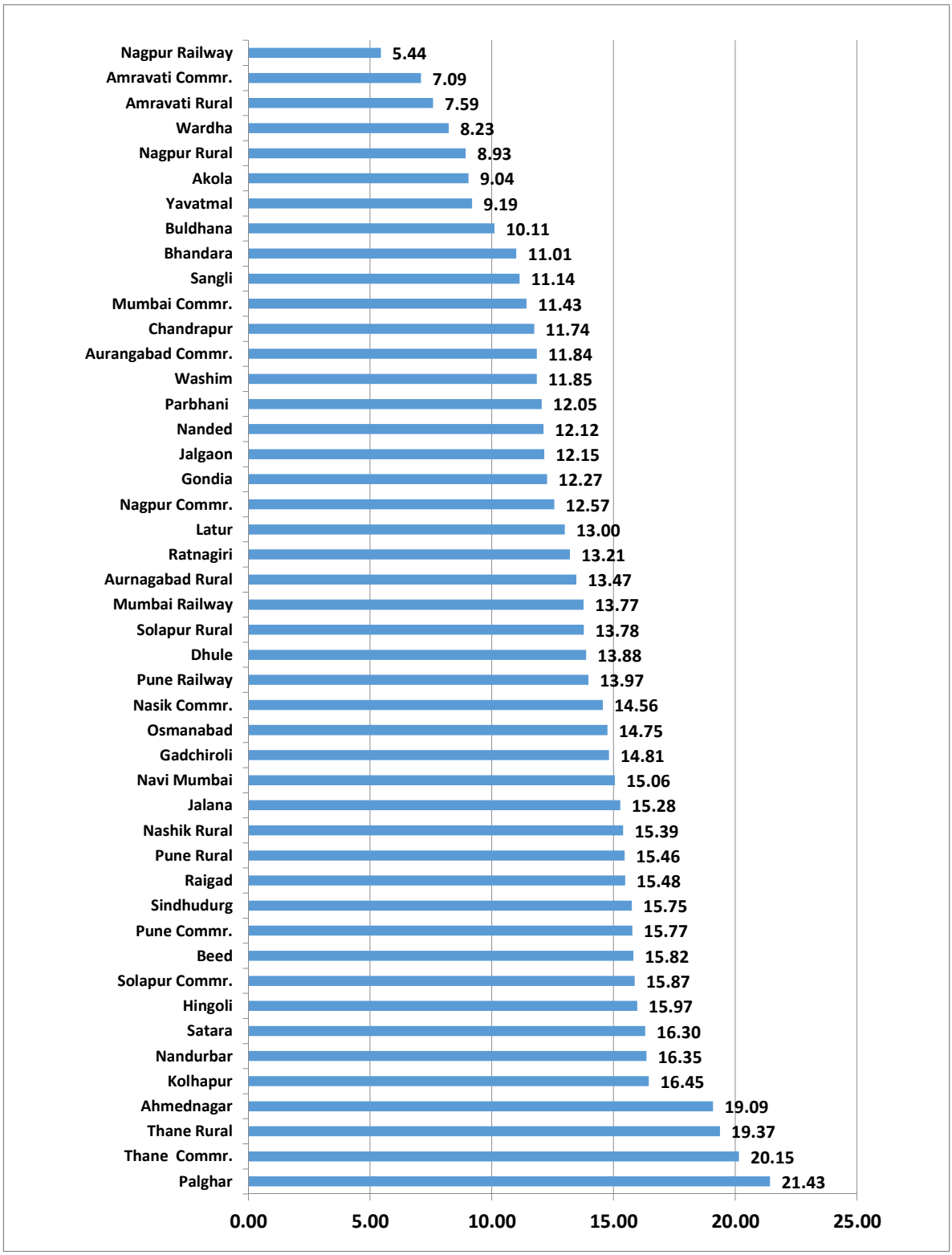

हिंसामय गुन्ह्यांचा कल - आयुक्तालये

३.५.१ सन २०१५ मध्ये राज्यातील एकूण दाखल ३७२९० हिंसामय गुन्ह्यांपैकी १४८१८ गुन्हे (३९.७४%) ९ आयुक्तालय हद्दीत दाखल झाले आहेत. सन २०१४ मध्ये राज्यातील ९ आयुक्तालयांचा हिंसामय गुन्ह्यांमध्ये एकूण ३८.२९% वाटा होता.

३.५.२ सन २०१५ मधील हिंसामय गुन्हयांचे प्रमाण पाहता आयुक्तालय हद्दीत ४४.२०% असून ग्रामीण भागात २७.६७ % आहे. राज्य पातळीवर गुन्हयांचे प्रमाण ३१.३०% असे आहे.

हिंसामय गुन्ह्यांची व्याप्ती

३.५.३ ९ आयुक्तालय हद्दीत एकूण दाखल १४८१८ हिंसामय गुन्ह्यांपैकी ४९०७ गुन्हे मुंबई शहरात दाखल झाले आहेत. त्यांनतर ठाणे शहर, पुणे शहर, नागपूर शहर यांचा अनुक्रमे नंबर लागतो.

Trend of violent Crimes - Commissionerates

3.5.1 Out of 37290 violent crimes reported in the State during 2015,14818 constituting 39.74%, have been reported in 9 Commissionerates. During 2014, the Commissionerates had contributed 38.29% of State - wide violent crimes.

3.5.2 The crime rate for violent crimes in the Commissionerates during 2015 was 44.20% as against 27.67 % in moffusil and 31.30% State wide.

Incidences of violent Crimes

3.5.3 Out of 14818 cases reported during the year in the 9 Commissionerates, 4907 incidents of violent crimes have been reported in Mumbai (C). Next in the order were Thane (C), Pune (C), Nagpur (C).

तक्ता क्र ३.७

Table No. 3.7

S.No	Incidence Range	No.	Commissionerate Name
1	[2]	[3]	[4]
1	Above 1000	4	Nagpur Commr., Pune Commr., Thane Commr., Mumbai Commr.
2	600 to 999	2	Navi Mumbai Commr., Aurangabad Commr.
3	400 to 599	1	Solapur Commr.
4	200 to 399	2	Amravati Commr, Nasik Commr.
5	Less than 200	0	Nil

तक्ता क्र. ३.८

सन २०१५ मध्ये आयुक्तालयांमधील हिंसामय गुन्हे - प्रमाण

(राज्य सरासरी : ३१.३०)

Table No. 3.8

Rate Of Violent Crimes In Commissionerates During – 2015

(State average : 31.30)

Above State Average			Below State Average		
Sr. No.	Commissionerate	Crime Rate	Sr. No.	Commissionerate	Crime Rate
1	Thane	60.21	Nil		
2	Aurangabad	52.12			
3	Nagpur	51.22			
4	Navi Mumbai	42.19			
5	Pune	42.18			
6	Solapur	39.9			
7	Mumbai	38.85			
8	Amravati	37.02			
9	Nashik	33.14			

तक्ता क्र.३.९
सन २०१५ मध्ये आयुक्तालयांत भा.द.वि.अंतर्गत दाखल झालेल्या हिंसामय गुन्ह्यांचा वाटा

(राज्य सरासरी : १३.५४)

Table No. 3.9

Percentage Share of Violent Crimes in the total IPC Crimes reported in Commissionerates during 2015

(State average : 13.54)

Commissionerates with Percentage Share Above State Average			Commissionerates with Percentage Share Below State Average		
Sr. No	**Name of Commrs.**	**%Share**	**Sr. No**	**Name of Commrs.**	**%Share**
1	Thane Commr.	20.15	1	Nagpur Commr.	12.57
2	Solapur Commr.	15.87	2	Aurangabad Commr.	11.84
3	Pune Commr.	15.77	3	Mumbai Commr.	11.43
4	Navi Mumbai Commr.	15.06	4	Amravati Commr.	7.09
5	Nasik Commr	14.56			

३.५.५ वरील तक्त्यावरुन सन २०१५ मध्ये भा.दं.वि. खाली आयुक्तालयात एकूण दाखल झालेल्या हिंसामय गुन्ह्यांचा वाटा ठाणे शहर (२०.१५%), सोलापूर शहर (१५.८७ %), पुणे शहर (१५.७७%), नवी मुंबई (१५.०६%), व नाशिक शहर (१४.५६%) यांचा वाटा राज्य सरासरी पेक्षा अधिक आहे.

3.5.5 The percentage share of violent crimes in total IPC crimes reported in the respective Commissionerates during 2015 shows that, Thane (C) (20.15%), Solapur (C) (15.87%), Pune (C) (15.77), Navi Mumbai (15.06%) and Nasik (C) (14.56%) had percentage above state average.

भा.दं.वि.खालील विविध हिंसामय गुन्ह्यांचा कल / मिमांसा

खून

३.६.१ सन २०१५ मध्ये दाखल खुनाच्या (२५०९) घटनांची मागील वर्षी दाखल गुन्ह्यांशी (२६७०) तुलना करता ६.०३ % घट आढळून येते. सर्वाधिक खुनाचे गुन्हे मुंबई शहर (१६९) दाखल झाले असून एकूण गुन्ह्यांपैकी ६.७४ % गुन्हे मुंबई शहरात दाखल झाले आहेत पुणे ग्रामीण हद्दीत देखील नोंद घ्यावी असे (१६७) गुन्हे दाखल झाले आहेत. इतर ज्या घटकांमध्ये प्रत्येकी १०० व त्यापेक्षा अधिक गुन्हे नोंदलेले आहेत, ते पुणे शहर (१२५), अहमदनगर (१११), ठाणे शहर (१०६) व नाशिक ग्रामीण (१०४) असे आहेत. वरील सहा घटकांनी एकूण गुन्ह्याच्या ३१.१७ % गुन्हे नोंदलेले आहेत.

Trend / Analysis of various violent I. P.C. crimes

Murder

3.6.1 The incidences of Murder (2509) during 2015, has decreased by 6.03% as compared to the previous year 2014 (2670). The highest incidences (169) or 6.74 % of the total murders have been reported from Mumbai (C). Pune (R) reported a disproportionately large number (167) of cases. The other Units which reported more than 100 cases each were Pune (C) (125), Ahmednagar (111), Thane (C) (106), & Nasik (R) (104). Together, the above 6 Units accounted for 31.17% of the total Murder cases reported in the State during 2015.

खुनाचा उद्देश

३.६.१.१ खुनाच्या उद्देशाची मीमांसा करता प्रधान उद्देश अनैतिक प्रेम संबंध (२१४, ८.५३%), वैयक्तिक वैरभाव (२००, ७.९७%) आढळून आले आहेत. दुसरे प्रमुख उद्देश मालमत्तेवरून वाद (१४३, ५.७०%), हुंडा (७८, ३.११%) प्रेमप्रकरणे (६३, २.५१%), फायद्यासाठी (६२, २.४७%) आढळून आले आहेत.

३.६.१.२ मुंबई शहरात फायद्यासाठी (१०), प्रेम प्रकरणे (७), वैयक्तिक वैरभाव (१७) असे उद्देश असलेले गुन्हे दाखल आहेत. वैयक्तिक वैरभाव या उद्देशाचे सर्वाधिक गुन्हे नाशिक शहर (१९), हुंड्यासाठी सर्वाधिक लातूर (१२), मालमत्तेच्या वादावरून सर्वाधिक गुन्हे अहमदनगर (१६)असे दाखल झाले आहेत.

खुनाचे गुन्हयातील बळी

३.६.१.३ चालू वर्षी दाखल झालेल्या २५०९ गुन्ह्यात खुनाचे बळी (२५९९) असून त्यापैकी पुरुष १७२२ आहेत व स्त्रियां ८७७ आहेत. पुरुष गटात ३० ते ४५ वर्ष वयोगटातील सर्वाधिक बळी (५९२) असून स्त्री गटात सर्वाधिक बळी (३३५) १८ ते ३० वर्ष वयोगटातील आहेत. खुनाच्या बळींची तपशिलवार माहिती तक्ता क्रमांक १३ क मध्ये देण्यात आली आहे.

अग्निशस्त्रांच्या वापरामुळे खुनांचे बळी

३.६.१.४ चालू वर्षी २५९९ खुनाचे बळी असून त्यापैकी ३६ बळी हे अग्निशस्त्रांचा वापर करण्यात आल्यामूळे असून, हे सर्व ३६ बळी विनापरवाना अग्निशस्त्रांचे आहेत. अग्निशस्त्रांच्या वापराबाबतचा माहिती तक्ता क्रमांक १३ ड मध्ये दिलेला आहे.

खुनाचा प्रयत्न

३.६.२ सन २०१५ मध्ये खुनाच्या प्रयत्नाच्या २६८३ घटनांची मागील वर्षी दाखल झालेल्या २६१३ गुन्ह्यांशी तुलना करता २.६८ % गुन्ह्यांची वाढ आहे. खुनाचे प्रयत्न या शीर्षाखाली मुंबई शहर सर्वाधिक गुन्हे (२३१) दाखल झाले आहेत. त्या पाठोपाठ ठाणे् शहर (१८१), पुणे शहर (१८०), पुणे ग्रामीण (१०२), बीड (९६), अहमदनगर (९०), व नागपूर शहर (८४) असे गुन्हे दाखल झाले आहेत.

Motives for Murder

3.6.1.1 The primary motives for murder were illicit relationship (214 , 8.53 %) and Personal Vendetta or Enmity (200, 7.97 %). Other significant motives were Property Dispute (143, 5.70 %),Dowry (78, 3.11%), Love Intrigue (63, 2.51%), Gain (62, 2.47%).

3.6.1.2 In Mumbai (C) the predominant motives for murder were Gain (10), Love Intrigues (7), Personal Vendetta or enmity (17). The highest cases have been registered as per motive-Personal Vendetta or enmity in Nasik (C) (19); Dowry - Latur (12); Property Dispute - Ahmednagar (16).

Victims of Murder

3.6.1.3 During 2015 there were 2509 cases of Murder registered in the State which had (2599) victims (1722 Male and 877 Female). The highest number of male victims (592) are from the age group 30 to 45 years whereas highest number of female victims (335) are from age group 18 to 30 years. Details of the victims of murder are given in Table No. 13 C.

Victims in Murder cases by use of Firearms

3.6.1.4 During current year, there were total 2599 victims of murder. Out of them, 36 victims were due to use of firearms. All These 36 were killed by use of unlicensed firearms. The District-wise information regarding victims due to use of firearms is given in Table No.13 D.

Attempt to Commit Murder

3.6.2 The incidences (2683) of Attempt to Commit Murder in year 2015, denotes an increase by 2.68% as compared to that of the previous year (2613). Mumbai (C). registered the highest (231) incidences of Attempt to Commit Murder followed by Thane (C) (181), Pune (C) (180), Pune (R) (102), Beed (96), Ahmendnagar (90) and Nagpur (C) (84).

सदोष मनुष्यवध (खुनाच्या उद्देशाविना)

३.६.३ सन २०१५ मध्ये सदोष मनुष्यवध (खुनाच्या उद्देशाविना) या शीर्षाखाली दाखल झालेल्या (१५१) गुन्ह्यांची तुलना मागील वर्षीच्या दाखल झालेल्या १७१ गुन्ह्यांशी करता ११.७० % ने घट झालेली दिसून येते. राज्यात सर्वाधिक गुन्हयाचे प्रमाण पुणे ग्रामीण या घटकात ११ असे आहे.

Culpable Homicide not amounting to Murder

3.6.3 The incidences (151) of Culpable Homicide not amounting to Murder during 2015 denotes a decrease by 11.70% over the previous year (171). Pune (R) recorded the highest crimes 11.

बलात्कार

३.६.४ २०१५ मध्ये बलात्कार या शीर्षाखाली दाखल झालेल्या एकूण (४१४४) गुन्ह्यांची मागील वर्षी दाखल झालेल्या (३४३८) गुन्ह्यांशी तुलना करता २०.५४ % वाढ झाले असून राज्यात सर्वात जास्त ७१२ गुन्हे मुंबई शहरात असुन गुन्ह्यांचा वाटा १७.१८% आहे. इतर घटक, जसे पुणे शहर (२६६), ठाणे शहर (२५१), , पुणे ग्रामीण (१८१), नागपूर शहर (१६६), पालघर (१३५), चंद्रपूर (१२६) व अमरावती (१२२) या घटकात एकूण गुन्ह्यांच्या ३०.०९ % गुन्हे दाखल झाले आहेत.

Rape

3.6.4 The number of rape cases reported in 2015 (4144) has increased by 20.54 % as compared to previous year (3438). Mumbai (C) recorded the highest number (712) of incidences (17.18%) of all the Rape cases reported in the State. Other units, viz.Pune (C) (266), Thane (C) (251), Pune (R) (181), Nagpur (C) (166), Palghar (135), Chandrapur (126), Amravati (122),accounted for 30.09% of all incidences reported in the State.

अपहरण व पळवून नेणे.

3.6.5 सन २०१५ अपहरण व पळवून नेण्याचे दाखल झालेले गुन्हे (८२५५) ची तुलना सन २०१४ मधील दाखल गुन्ह्यांशी (३७९३) करता ११७.६४ % वाढ आढळून येते. मुंबई शहरात सर्वाधिक गुन्हे (१५८३) दाखल असून एकूण गुन्ह्यांचा १९.१८ % इतका वाटा आहे. त्या पाठोपाठ ठाणे शहर (७९३), पुणे शहर (७०७) व पालघर (४०९) असे गुन्हे आहेत.

Kidnapping & Abduction

3.6.5 During 2015, the incidences of cases of Kidnapping and Abduction (8255) have increased by 117.64% as compared to the previous year (3793). The highest number of incidences (1583) were in Mumbai (C) (accounting for 19.18% of the total cases reported in the State) followed by 793 in Thane (C), 707 in Pune (C), 409 in Palghar.

दरोडा

3.6.6 सन २०१५ मध्ये दाखल झालेल्या (७८४) गुन्ह्यांची २०१४ मध्ये दाखल (८८५) गुन्ह्यांशी तुलना करता ११.४१ % घट आढळून येते. अहमदनगर या घटकात सर्वाधिक (६३) गुन्हे दाखल झाले असून राज्यातील एकूण गुन्ह्यात ८.०४ % हिस्सा आहे. त्या पाठोपाठ मुंबई शहर (४८), पुणे शहर (४०), ठाणे शहर (३७), जळगांव (३६) व नाशिक ग्रामीण (३४) या घटकांकडे एकूण गुन्ह्यांच्या ३२.९१ % इतके गुन्हे नोंदले आहेत.

Dacoity

3.6.6 During 2015, the incidences of Dacoity (784) have decreased by 11.41 % as compaired to the previous year 2014 (885). Ahmednagar recorded highest number of cases (63) accounting for 8.04% of the total cases reported in the State, followed by Mumbai (C) (48), Pune (C) (40), Thane (C) (37), Jalgaon (36), Nasik Rural (34) accounting for 32.91% of the total cases in the State.

जबरी चोरी

३.६.७ सन २०१५ मध्ये या शीर्षाखाली दाखल गुन्ह्यांची (८५६१) मागील वर्षातील दाखल गुन्ह्यांशी (९४६६) तुलना करता ९.५६ % घट झालेली आहे. सर्वाधिक गुन्हे मुंबई शहर (१७०८) त्यापाठोपाठ ठाणे शहर (१२०२), पुणे शहर (७३१), मुंबई रेल्वे (५३१), असे दाखल झाले आहेत. या चार घटकांतील गुन्हयाचे प्रमाण एकूण गुन्ह्याशी तुलना करता ४८.७३% इतके आहे.

Robbery

3.6.7 During 2015 the incidences (8561) of Robbery have decreased by 9.56 % as compared to the previous year (9466). The highest number of incidences (1708) have been reported from Mumbai (C) followed by Thane (C) (1202), Pune (C) (731) & Mumbai Rly (531). These four units together accounted for 48.73% of the total Robbery cases reported in the State during this year.

दंगा

३.६.८ सन २०१५ मधील दाखल गुन्ह्यांची (८३३६) तुलना मागील वर्षी दाखल झालेल्या एकूण गुन्ह्यांशी (७७६०) करता ७.४२ % वाढ झालेली आहे. सर्वात अधिक गुन्हे पुणे ग्रामीण घटकात (६२८) दाखल झाले असून त्या पाठोपाठ अहमदनगर (५५४), नाशिक ग्रामीण (४५४) व ठाणे शहर (४१४) गुन्हे दाखल झाले आहेत. या चार घटकांतील गुन्हे एकत्र करता राज्यातील एकूण गुन्ह्यांपैकी २४.५९ % गुन्हे या घटकात घडलेले आहेत.

Riots

3.6.8 The incidences (8336) of Riots have increased by 7.42 % over the previous year (7760). The highest incidences (628) have been reported in Pune (R) followed by (554) Ahamadnagar, (454) in Nasik (R), (414) in Thane (C). These four units together accounted for 24.59 % of the total Riots cases reported in the State during this year.

जाळपोळ

३.६.९ सन २०१५ मध्ये १२९९ गुन्हे दाखल झाले असून मागील वर्षाच्या ११८० गुन्ह्यांच्या तुलनेत १०.०८ % वाढ झालेली आहे. राज्यातील एकूण दाखल गुन्ह्यांपैकी सर्वात अधिक गुन्हे सोलापूर ग्रामीण घटकात (७०) गुन्हे दाखल झाले आहेत. ६० पेक्षा अधिक गुन्हे नोंदवणारे घटक अमरावती ग्रामीण (६९) आणि औरंगाबाद शहर (६७) असे आहेत.

Arson

3.6.9 The number of Arson cases during 2015 has increased by 10.08 % as compared to 2014. 1299 cases have been registered during 2015 in the State as compared to 1180 during previous year. Solapur (R) (70) recorded the highest number of incidences. Other units which registered more than 60 Arson cases were Amravati (R) (69) and Aurangabad (C) (67).

हुंडाबळी

३.६.१० सन २०१५ मध्ये २६८ गुन्हे दाखल झाले असून मागील वर्षाच्या २७९ गुन्ह्यांच्या तुलनेत ३.९४% ने घट दर्शाविते. सर्वाधिक हुंडाबळीचे गुन्हे, औरंगाबाद ग्रामीण (१८), या घटकात दाखल झाले असून त्यापाठोपाठ पुणे शहर (१७) व पुणे ग्रामीण व सांगली प्रत्येकी (१६) या घटकात दाखल झाले आहे. वरील चार घटकांतील एकूण दाखल गुन्हे हे राज्यातील एकूण दाखल गुन्ह्यांच्या २५ % इतके आहेत.

Dowry Death

3.6.10 During 2015 the incidences of dowry deaths have decreased by by 3.94 % as compared to those during 2014. The total of 268 cases have been registered during 2015 in the State as compared to 279 of the previous year. The highest number of dowry death incidents, have been recorded in Aurangabad (R) (18) followed by Pune (C) (17), Pune (R) (16) & Sangli (16). The above 4 units accounted for 25% of all such incidents reported in the State during this year.

तक्ता क्र. १३

सन २०१५ मधील हिंसामय गुन्हयांच्या घटना व प्रमाण (घटक - निहाय)

TABLE No. 13

Incidence and Rate of Violent Crimes During 2015 (Unit-wise)

Sr. No.	Unit	Murder	Attempt To Commit Murder	C.H. Not Amounting To Murder	Attempt to Commit C.H. Not Amounting To Murder	Rape	Attempt To Commit Rape	Total Kidnapping & Abduction	Dacoity
1	2	3	4	5	6	7	8	9	10
1	Akola	44	42	2	0	44	0	73	3
2	Amravati Rural	60	67	2	0	122	0	122	10
3	Buldhana	54	32	4	0	63	0	41	9
4	Yavatmal	75	71	7	0	98	2	144	12
5	Washim	26	55	4	0	30	0	54	15
*	**Amravati Range**	**259**	**267**	**19**	**0**	**357**	**2**	**434**	**49**
6	Aurangabad Rural	54	68	2	0	45	0	75	29
7	Jalna	40	72	6	0	47	0	78	11
8	Beed	66	96	2	0	78	0	122	32
9	Osmanabad	39	43	1	0	54	0	65	18
*	**Aurangabad Range**	**199**	**279**	**11**	**0**	**224**	**0**	**340**	**90**
10	Nanded	60	55	1	0	70	0	138	13
11	Latur	59	40	3	0	54	0	114	16
12	Parbhani	45	78	3	0	44	0	108	3
13	Hingoli	35	33	1	0	22	0	37	9
*	**Nanded Range**	**199**	**206**	**8**	**0**	**190**	**0**	**397**	**41**
14	Kolhapur	47	83	7	0	93	0	185	18
15	Pune Rural	167	102	11	0	181	0	383	50
16	Sangli	56	51	3	0	67	0	130	14
17	Satara	57	59	6	0	114	1	201	40
18	Solapur Rural	70	87	4	1	109	2	138	30
*	**Kolhapur Range**	**397**	**382**	**31**	**1**	**564**	**3**	**1037**	**152**
19	Bhandara	27	29	2	0	25	0	68	0
20	Chandrapur	29	54	4	0	126	1	138	5
21	Nagpur Rural	58	40	5	0	84	0	80	7
22	Wardha	46	34	5	0	60	0	80	2
*	**Nagpur Range**	**160**	**157**	**16**	**0**	**295**	**1**	**366**	**14**
23	Gadchiroli	52	49	3	0	41	1	22	4
24	Gondia	28	31	0	0	56	0	78	0
*	**Gadchiroli Range**	80	80	3	0	97	1	100	4
25	Ahmednagar	111	90	5	0	106	1	229	63
26	Dhule	35	39	3	0	35	0	28	21
27	Jalgaon	72	71	4	0	66	1	107	36
28	Nasik Rural	104	78	4	0	103	0	177	34
29	Nandurbar	31	20	2	0	25	0	27	2
*	**Nasik Range**	**353**	**298**	**18**	**0**	**335**	**2**	**568**	**156**
30	Raigad	35	30	6	0	88	3	75	10
31	Ratnagiri	14	10	4	0	48	0	57	5
32	Sindhudurg	9	4	0	7	28	0	19	1
33	Thane Rural	53	28	4	0	86	0	177	9
34	Palghar	92	35	2	0	135	0	409	24
*	**Thane Range**	**203**	**107**	**16**	**7**	**385**	**3**	**737**	**49**
35	Mumbai Railway	6	5	1	1	5	0	23	6
36	Pune Railway	5	1	0	0	4	0	13	5
37	Nagpur Railway	7	5	0	0	6	0	11	8
*	**Railway Range**	**18**	**11**	**1**	**1**	**15**	**0**	**47**	**19**
38	Nagpur Commr.	79	84	3	0	166	1	355	21
39	Pune Commr.	125	180	10	1	266	0	707	40
40	Thane Commr.	106	181	7	0	251	0	793	37
41	Mumbai Commr.	169	231	1	1	712	0	1583	48
42	Nasik Commr.	40	43	0	0	30	0	166	10
43	Aurangabad Commr.	35	82	3	1	65	0	174	27
44	Solapur Commr.	15	31	0	0	49	0	77	9
45	Navi Mumbai	48	27	2	0	104	0	263	17
46	Amravati Commr.	24	37	2	0	39	0	111	1
*	**Total Commrs.**	**641**	**896**	**28**	**3**	**1682**	**1**	**4229**	**210**
*	**Total of M.S**	**2509**	**2683**	**151**	**12**	**4144**	**13**	**8255**	**784**

तक्ता क्र. १३ (पुर्ण)

TABLE NO. 13 (Concluded)

Sr. No.	Unit	Making Preparation & Assembly For Committing Dacoity	Robbery	Riots	Arson	Dowry Death	Total Violent Crimes (Col. 3 to 15)	Percentage Share To State Crimes	Rate of Violent Crimes	Percentage To Total Cogni-zable Crimes Under IPC
1	2	11	12	13	14	15	16	17	18	19
1	Akola	0	87	70	31	4	400	1.07	20.91	9.04
2	Amravati Rural	1	55	49	69	3	560	1.50	25.74	7.59
3	Buldhana	1	52	186	45	14	501	1.34	18.34	10.10
4	Yavatmal	2	119	146	58	15	749	2.01	25.33	9.19
5	Washim	0	29	73	29	12	327	0.88	25.51	11.85
*	**Amravati Range**	**4**	**342**	**524**	**232**	**48**	**2537**	**6.80**	22.94	9.17
6	Aurangabad Rural	7	74	290	34	18	696	1.87	29.35	13.47
7	Jalna	6	66	192	28	11	557	1.49	26.42	15.28
8	Beed	6	110	321	29	5	867	2.33	31.24	15.82
9	Osmanabad	4	46	196	17	6	489	1.31	27.70	14.75
*	**Aurangabad Range**	**23**	**296**	**999**	**108**	**40**	**2609**	**7.00**	28.92	14.82
10	Nanded	2	83	200	51	12	685	1.84	19.04	12.12
11	Latur	2	61	189	54	8	600	1.61	22.81	13.00
12	Parbhani	1	37	132	30	11	492	1.32	24.95	12.05
13	Hingoli	1	21	121	29	1	310	0.83	24.52	15.97
*	**Nanded Range**	**6**	**202**	**642**	**164**	**32**	**2087**	**5.60**	22.05	12.81
14	Kolhapur	4	161	383	17	7	1005	2.70	24.38	16.45
15	Pune Rural	18	226	628	54	5	1825	4.89	41.03	15.46
16	Sangli	3	83	263	18	16	704	1.89	23.48	11.14
17	Satara	10	209	355	28	2	1082	2.90	33.98	16.30
18	Solapur Rural	8	65	412	70	8	1004	2.69	28.10	13.78
*	**Kolhapur Range**	**43**	**744**	**2041**	**187**	**38**	**5620**	**15.07**	30.67	14.73
19	Bhandara	0	21	19	31	0	222	0.60	17.47	11.01
20	Chandrapur	1	44	66	40	10	518	1.39	22.18	11.74
21	Nagpur Rural	1	45	44	34	1	399	1.07	17.73	8.93
22	Wardha	4	46	41	16	0	334	0.90	24.26	8.23
*	**Nagpur Range**	**6**	**156**	**170**	**121**	**11**	**1473**	**3.95**	20.36	9.85
23	Gadchiroli	0	8	24	17	1	222	0.60	19.44	14.81
24	Gondia	1	21	7	9	0	231	0.62	16.43	12.27
*	**Gadchiroli Range**	**1**	**29**	**31**	**26**	**1**	**453**	**1.21**	17.78	13.40
25	Ahmednagar	20	278	554	58	14	1529	4.10	31.84	19.07
26	Dhule	6	60	143	4	6	380	1.02	17.26	13.88
27	Jalgaon	9	124	289	23	1	803	2.15	17.77	12.15
28	Nasik Rural	4	115	454	26	14	1113	2.98	23.37	15.39
29	Nandurbar	0	23	91	6	0	227	0.61	12.76	16.35
*	**Nasik Range**	**39**	**600**	**1531**	**117**	**35**	**4052**	**10.87**	22.43	15.59
30	Raigad	3	62	156	15	1	484	1.30	25.79	15.48
31	Ratnagiri	1	42	90	17	1	289	0.78	17.89	13.21
32	Sindhudurg	0	16	33	15	0	132	0.35	15.53	15.75
33	Thane Rural	2	175	225	15	2	776	2.08	32.37	19.37
34	Palghar	8	232	196	10	2	1145	3.07	36.22	21.43
*	**Thane Range**	**14**	**527**	**700**	**72**	**6**	**2826**	**7.58**	28.55	18.23
35	Mumbai Railway	1	531	4	0	0	583	1.56		13.77
36	Pune Railway	0	79	2	0	0	109	0.29		13.97
37	Nagpur Railway	2	78	6	0	0	123	0.33		5.44
*	**Railway Range**	**3**	**688**	**12**	**0**	**0**	**815**	**2.19**		11.20
38	Nagpur Commr.	27	464	142	34	9	1385	3.71	51.22	12.57
39	Pune Commr.	28	731	259	57	17	2421	6.49	42.18	15.77
40	Thane Commr.	13	1202	414	52	7	3063	8.21	60.21	20.15
41	Mumbai Commr.	29	1708	396	20	9	4907	13.16	38.85	11.43
42	Nasik Commr.	9	187	77	14	1	577	1.55	33.14	14.56
43	Aurangabad Commr.	23	210	145	67	3	835	2.24	52.12	11.84
44	Solapur Commr.	1	85	135	7	1	410	1.10	39.90	15.87
45	Navi Mumbai	6	313	102	11	9	902	2.42	42.19	15.06
46	Amravati Commr.	0	77	16	10	1	318	0.85	37.02	7.09
*	**Total Commrs.**	**136**	**4977**	**1686**	**272**	**57**	14818	40	44.20	13.65
*	**Total of M.S**	**275**	**8561**	**8336**	**1299**	**268**	**37290**	**100.00**	**31.30**	**13.54**

`

सन २०१५ मधील हिंसामय गुन्हयांच्या घटना व प्रमाण (घटक - निहाय)

Table No. 13 (A)

Incidences And Rate Of Violent Offences During 2015 (Unit-Wise)

Sr. No.	Unit	Murder	Attempt To Commit Murder	C.H. Not Amounting To Murder	Attempt to Commit C.H. Not Amounting To Murder	Rape	Attempt to Commit Rape	Kidnapping & Abduction	Dacoity	Making Preparation And Assembly For Committing Dacoity	Robbery
1	**2**	**3**	**4**	**5**	**6**	**7**	**8**	**9**	**10**	**11**	**12**
1	Akola	52	50	3	0	52	1	42	14	3	108
2	Amravati Rural	51	63	5	0	103	0	76	6	1	42
3	Buldhana	59	55	5	0	57	0	44	12	3	44
4	Yavatmal	75	98	5	0	108	0	157	19	5	146
5	Washim	31	62	5	0	33	0	32	6	1	51
*	**Amravati Range**	**268**	**328**	**23**	**0**	**353**	**1**	**351**	**57**	**13**	**391**
6	Aurangabad Rural	49	63	1	0	31	0	37	18	10	41
7	Jalna	64	76	4	0	33	0	39	12	4	75
8	Beed	75	93	2	0	70	0	72	21	2	94
9	Osmanabad	39	58	2	0	43	0	28	19	11	40
*	**Aurangabad Range**	**227**	**290**	**9**	**0**	**177**	**0**	**176**	**70**	**27**	**250**
10	Nanded	73	73	4	0	43	0	95	8	2	62
11	Latur	74	61	1	0	57	0	84	31	3	79
12	Parbhani	44	82	3	0	38	0	64	26	1	48
13	Hingoli	27	28	1	0	24	0	29	2	2	19
*	**Nanded Range**	**218**	**244**	**9**	**0**	**162**	**0**	**272**	**67**	**8**	**208**
14	Kolhapur	64	68	3	0	84	0	70	18	3	236
15	Pune Rural	153	125	11	0	147	1	157	87	29	251
16	Sangli	50	47	1	0	66	1	68	11	6	63
17	Satara	67	39	9	0	97	0	88	46	5	234
18	Solapur Rural	87	75	9	0	97	2	93	22	9	68
*	**Kolhapur Range**	**421**	**354**	**33**	**0**	**491**	**4**	**476**	**184**	**52**	**852**
19	Bhandara	20	17	3	0	28	0	23	1	0	25
20	Chandrapur	51	50	3	0	99	1	49	9	2	41
21	Nagpur Rural	69	46	11	0	65	0	35	7	7	65
22	Wardha	35	64	8	0	62	0	37	14	2	50
*	**Nagpur Range**	**175**	**177**	**25**	**0**	**254**	**1**	**144**	**31**	**11**	**181**
23	Gadchiroli	54	55	2	0	22	1	8	4	0	8
24	Gondia	33	21	3	0	58	0	26	1	0	20
*	**Gadchiroli Range**	**87**	**76**	**5**	**0**	**80**	**1**	**34**	**5**	**0**	**28**
25	Ahmednagar	109	74	6	0	103	1	121	44	21	274
26	Dhule	38	46	1	0	35	0	43	32	3	56
27	Jalgaon	80	77	2	0	66	0	84	43	2	129
28	Nasik Rural	98	65	6	0	87	0	108	27	6	103
29	Nandurbar	36	19	5	0	25	0	21	6	1	13
*	**Nasik Range**	**361**	**281**	**20**	**0**	**316**	**1**	**377**	**152**	**33**	**575**
30	Raigad	31	17	0	0	47	1	41	6	0	72
31	Ratnagiri	11	15	3	0	34	1	19	2	0	38
32	Sindhudurg	7	10	1	8	12	1	10	5	0	16
33	Thane Rural	51	23	11	0	75	0	71	27	6	230
34	Palghar	85	36	8	0	98	0	114	21	7	211
*	**Thane Range**	**185**	**101**	**23**	**8**	**266**	**3**	**255**	**61**	**13**	**567**
35	Mumbai Railway	17	2	0	0	1	0	17	0	0	573
36	Pune Railway	8	1	0	0	2	0	3	8	1	56
37	Nagpur Railway	2	1	0	0	3	0	2	6	1	80
*	**Railway Range**	**27**	**4**	**0**	**0**	**6**	**0**	**22**	**14**	**2**	**709**
38	Nagpur Commr.	103	92	5	0	113	2	145	16	16	505
39	Pune Commr.	138	181	9	0	189	0	228	92	33	873
40	Thane Commr.	117	122	2	2	215	0	435	35	13	1315
41	Mumbai Commr.	183	181	4	1	607	2	541	34	14	2094
42	Nasik Commr.	26	30	0	0	28	0	59	13	29	124
43	Aurangabad Commr.	35	54	0	0	27	0	63	25	15	204
44	Solapur Commr.	21	26	0	0	39	0	39	10	1	123
45	Navi Mumbai	51	23	2	0	88	0	140	17	13	411
46	Amravati Commr.	27	49	2	0	27	0	36	2	0	56
*	**Total Commrs.**	**701**	**758**	**24**	**3**	**1333**	**4**	**1686**	**244**	**134**	**5705**
*	**Total of M.S**	**2670**	**2613**	**171**	**11**	**3438**	**15**	**3793**	**885**	**293**	**9466**

तक्ता क्र. १३ (अ - ब)

सन २०१५ मधील हिंसामय गुन्हयांच्या घटना व प्रमाण (घटक - निहाय)

Table No. 13 (A - B)

Incidences And Rate Of Violent Offences During 2015 (Unit-Wise)

Sr. No.	Unit	Riots	Arson	Dowry Death	Total Violent Crimes (Col. 3 to 15)	Percentage Share To State Crimes	Crime Rate of Violent Crimes	Percentage To Total Cognizable Crimes Under IPC
1	2	13	14	15	16	17	18	19
1	Akola	97	34	5	461	1.42	24.10	10.42
2	Amravati Rural	43	70	8	468	1.44	21.51	6.34
3	Buldhana	186	45	22	532	1.63	19.47	10.73
4	Yavatmal	197	65	12	887	2.72	30.00	10.89
5	Washim	94	26	5	346	1.06	27.00	12.54
*	**Amravati Range**	**617**	**240**	**52**	**2694**	**8.27**	**24.36**	**9.74**
6	Aurangabad Rural	264	30	7	551	1.69	23.23	10.66
7	Jalna	120	23	13	463	1.42	21.96	12.70
8	Beed	266	33	3	731	2.24	26.34	13.34
9	Osmanabad	148	19	5	412	1.26	23.34	12.42
*	**Aurangabad Range**	**798**	**105**	**28**	**2157**	**6.62**	**23.91**	**12.25**
10	Nanded	192	41	6	599	1.84	16.65	10.59
11	Latur	246	54	4	694	2.13	26.38	15.03
12	Parbhani	157	28	5	496	1.52	25.15	12.15
13	Hingoli	66	12	4	214	0.66	16.93	11.03
*	**Nanded Range**	**661**	**135**	**19**	**2003**	**6.15**	**21.16**	**12.29**
14	Kolhapur	273	22	8	849	2.61	20.60	13.90
15	Pune Rural	609	37	13	1620	4.97	36.42	13.73
16	Sangli	218	22	6	559	1.72	18.64	8.85
17	Satara	340	26	4	955	2.93	30.00	14.38
18	Solapur Rural	431	31	2	926	2.84	25.91	12.71
*	**Kolhapur Range**	**1871**	**138**	**33**	**4909**	**15.07**	**26.79**	**12.87**
19	Bhandara	19	20	3	159	0.49	12.51	7.89
20	Chandrapur	53	28	2	388	1.19	16.62	8.79
21	Nagpur Rural	60	41	4	410	1.26	18.22	9.18
22	Wardha	41	19	1	333	1.02	24.19	8.20
*	**Nagpur Range**	**173**	**108**	**10**	**1290**	**3.96**	**17.83**	**8.63**
23	Gadchiroli	9	17	0	180	0.55	15.76	12.01
24	Gondia	13	10	6	191	0.59	13.58	10.15
*	**Gadchiroli Range**	**22**	**27**	**6**	**371**	**1.14**	**14.56**	**10.97**
25	Ahmednagar	457	46	13	1269	3.90	26.43	15.83
26	Dhule	166	3	11	434	1.33	19.71	15.85
27	Jalgaon	327	23	1	834	2.56	18.46	12.62
28	Nasik Rural	375	25	17	917	2.82	19.26	12.68
29	Nandurbar	89	6	2	223	0.68	12.53	16.07
*	**Nasik Range**	**1414**	**103**	**44**	**3677**	**11.29**	**20.36**	**14.15**
30	Raigad	146	22	2	385	1.18	20.51	12.31
31	Ratnagiri	66	13	0	202	0.62	12.51	9.23
32	Sindhudurg	24	15	0	109	0.33	12.82	13.01
33	Thane Rural	168	26	3	691	2.12	28.83	17.24
34	Palghar	220	12	1	813	2.50	25.72	15.22
*	**Thane Range**	**624**	**88**	**6**	**2200**	**6.75**	**22.22**	**14.19**
35	Mumbai Railway	6	0	0	616	1.89		14.55
36	Pune Railway	3	0	1	83	0.25		10.64
37	Nagpur Railway	7	0	0	102	0.31		4.51
*	**Railway Range**	**16**	**0**	**1**	**801**	**2.46**		**11.01**
38	Nagpur Commr.	147	33	10	1187	3.64	43.90	10.77
39	Pune Commr.	259	38	20	2060	6.32	35.89	13.42
40	Thane Commr.	338	38	13	2645	8.12	52.00	17.40
41	Mumbai Commr.	409	54	22	4146	12.73	32.83	9.66
42	Nasik Commr.	64	6	3	382	1.17	21.94	9.64
43	Aurangabad Commr.	134	35	2	594	1.82	37.08	8.42
44	Solapur Commr.	111	6	3	379	1.16	36.88	14.67
45	Navi Mumbai	89	10	6	850	2.61	39.76	14.19
46	Amravati Commr.	13	16	1	229	0.70	26.66	5.10
*	**Total Commrs.**	**1564**	**236**	**80**	**12472**	**38.29**	**37.20**	**11.49**
*	**Total of M.S**	**7760**	**1180**	**279**	**32574**	**100.00**	**27.34**	**11.83**

तक्ता क्र.१३ (ब)

सन २०१५ मधील जिल्हा / आयुक्तालयांमधील खुनाचे आणि सदोष मनुष्यवध गुन्हयांचे उद्देश

Table 13 (B)

Motives of Murder and Culpable Homicide During 2015

Sr. No.	Unit	Motives of Murder							
		Gain	Property Dispute	Personal Vendetta Or Enmity	Dowry	Lunacy	Witch Craft	Child/ Human Sacrifice	Commu-nalism
1	2	3	4	5	6	7	8	9	10
1	Akola	0	11	5	0	0	0	0	0
2	Amravati Rural	0	3	3	0	0	0	0	0
3	Buldhana	0	6	14	6	0	0	0	2
4	Yavatmal	2	1	5	2	0	0	0	0
5	Washim	0	2	3	4	0	0	0	1
*	**Amravati Range**	**2**	**23**	**30**	**12**	**0**	**0**	**0**	**3**
6	Aurangabad Rural	0	0	0	3	0	0	0	0
7	Jalna	0	6	17	4	0	0	0	0
8	Beed	0	0	3	6	0	0	0	0
9	Osmanabad	0	3	0	3	0	0	0	0
*	**Aurangabad Range**	**0**	**9**	**20**	**16**	**0**	**0**	**0**	**0**
10	Nanded	2	3	0	7	0	0	0	0
11	Latur	3	2	3	12	0	0	0	0
12	Parbhani	0	8	1	3	0	0	0	0
13	Hingoli	0	3	1	2	0	0	0	0
*	**Nanded Range**	**5**	**16**	**5**	**24**	**0**	**0**	**0**	**0**
14	Kolhapur	0	6	4	0	0	0	0	0
15	Pune Rural	0	1	3	0	0	0	0	0
16	Sangli	4	1	8	1	0	0	0	0
17	Satara	1	2	9	0	1	0	0	0
18	Solapur Rural	0	4	6	3	0	0	0	0
*	**Kolhapur Range**	**5**	**14**	**30**	**4**	**1**	**0**	**0**	**0**
19	Bhandara	3	2	3	0	0	1	0	0
20	Chandrapur	0	2	0	0	0	0	0	0
21	Nagpur Rural	0	4	3	1	0	1	0	0
22	Wardha	0	1	1	0	0	0	0	0
*	**Nagpur Range**	**3**	**9**	**7**	**1**	**0**	**2**	**0**	**0**
23	Gadchiroli	0	2	0	0	0	1	0	0
24	Gondia	1	1	10	0	1	1	0	0
*	**Gadchiroli Range**	**1**	**3**	**10**	**0**	**1**	**2**	**0**	**0**
25	Ahmednagar	13	16	4	6	0	0	0	0
26	Dhule	0	1	0	0	0	0	0	0
27	Jalgaon	1	3	2	1	0	0	0	0
28	Nasik Rural	1	6	6	4	0	0	0	0
29	Nandurbar	0	3	2	0	0	0	0	0
*	**Nasik Range**	**15**	**29**	**14**	**11**	**0**	**0**	**0**	**0**
30	Raigad	5	3	11	1	0	0	0	0
31	Ratnagiri	3	2	6	0	0	0	0	0
32	Sindhudurg	0	2	0	0	0	1	0	0
33	Thane Rural	0	1	0	0	0	0	0	0
34	Palghar	1	7	0	1	0	0	0	0
*	**Thane Range**	**9**	**15**	**17**	**2**	**0**	**1**	**0**	**0**
35	Mumbai Railway	1	0	1	0	0	0	0	0
36	Pune Railway	0	0	0	0	0	0	0	0
37	Nagpur Railway	0	0	1	0	0	0	0	0
*	**Railway Range**	**1**	**0**	**2**	**0**	**0**	**0**	**0**	**0**
38	Nagpur Commr.	5	1	13	2	0	0	0	0
39	Pune Commr.	0	4	4	0	0	0	1	0
40	Thane Commr.	4	3	6	1	0	0	0	0
41	Mumbai Commr.	10	6	17	1	1	0	0	0
42	Nasik Commr.	1	3	19	4	0	0	0	0
43	Aurangabad Commr.	0	1	0	0	0	0	0	0
44	Solapur Commr.	0	1	1	0	0	0	0	0
45	Navi Mumbai	1	4	1	0	0	0	0	0
46	Amravati Commr.	0	2	4	0	0	0	0	0
*	**Total Commrs.**	**21**	**25**	**65**	**8**	**1**	**0**	**1**	**0**
*	**Total of M.S**	**62**	**143**	**200**	**78**	**3**	**5**	**1**	**3**

तक्ता क्र.१३ (ब) (चालू)

Table 13 B (Contd.)

Sr. No.	Unit	Motives of Murder							
		Casteism	Class Conflict	Political Reasons	Honour Killing	Rape	Gang Rape	Love Affairs	Illicit Relationship
1	2	11	12	13	14	15	16	17	18
1	Akola	0	0	0	0	0	0	0	11
2	Amravati Rural	0	0	0	0	0	0	1	8
3	Buldhana	0	0	0	0	0	0	1	9
4	Yavatmal	0	0	0	0	1	0	3	5
5	Washim	0	0	0	0	0	0	0	2
*	**Amravati Range**	**0**	**0**	**0**	**0**	**1**	**0**	**5**	**35**
6	Aurangabad Rural	0	0	0	0	1	0	1	0
7	Jalna	2	0	0	0	0	0	0	0
8	Beed	0	0	0	0	3	0	0	8
9	Osmanabad	0	0	0	0	0	0	1	7
*	**Aurangabad Range**	**2**	**0**	**0**	**0**	**4**	**0**	**2**	**15**
10	Nanded	0	0	0	0	0	0	0	7
11	Latur	0	0	0	0	2	0	4	7
12	Parbhani	0	0	0	0	0	0	1	3
13	Hingoli	0	0	0	0	0	0	1	2
*	**Nanded Range**	**0**	**0**	**0**	**0**	**2**	**0**	**6**	**19**
14	Kolhapur	0	0	0	0	0	0	1	6
15	Pune Rural	0	0	0	0	0	0	0	3
16	Sangli	0	0	0	0	1	0	0	11
17	Satara	0	0	0	0	0	1	0	4
18	Solapur Rural	0	0	0	0	1	0	0	8
*	**Kolhapur Range**	0	0	0	0	2	1	1	32
19	Bhandara	0	0	0	0	0	0	2	1
20	Chandrapur	0	0	0	0	0	0	1	2
21	Nagpur Rural	0	0	0	0	0	0	0	8
22	Wardha	0	0	0	0	0	0	0	2
*	**Nagpur Range**	0	0	0	0	0	0	3	13
23	Gadchiroli	0	0	0	0	0	0	1	8
24	Gondia	0	0	0	0	0	0	0	6
*	**Gadchiroli Range**	**0**	**0**	**0**	**0**	**0**	**0**	**1**	**14**
25	Ahmednagar	0	0	0	0	0	0	3	11
26	Dhule	0	0	0	0	0	0	0	4
27	Jalgaon	0	0	1	0	0	0	0	13
28	Nasik Rural	0	2	0	1	0	0	6	5
29	Nandurbar	0	0	0	0	0	0	2	6
*	**Nasik Range**	**0**	**2**	**1**	**1**	**0**	**0**	**11**	**39**
30	Raigad	0	0	0	0	1	0	4	5
31	Ratnagiri	0	0	0	0	0	0	2	8
32	Sindhudurg	0	0	0	0	0	0	1	1
33	Thane Rural	0	0	0	0	0	0	1	0
34	Palghar	0	0	0	0	0	0	1	2
*	**Thane Range**	**0**	**0**	**0**	**0**	**1**	**0**	**9**	**16**
35	Mumbai Railway	0	0	0	0	0	0	1	0
36	Pune Railway	0	0	0	0	0	0	0	0
37	Nagpur Railway	0	0	0	0	0	0	0	1
*	**Railway Range**	**0**	**0**	**0**	**0**	**0**	**0**	**1**	**1**
38	Nagpur Commr.	0	0	0	0	1	0	3	3
39	Pune Commr.	0	0	0	0	2	0	2	10
40	Thane Commr.	0	0	1	0	0	0	6	2
41	Mumbai Commr.	0	0	0	0	0	0	7	2
42	Nasik Commr.	0	0	0	0	0	0	1	2
43	Aurangabad Commr.	0	0	0	0	0	0	0	3
44	Solapur Commr.	0	0	0	0	0	0	0	0
45	Navi Mumbai	0	0	0	0	0	0	3	8
46	Amravati Commr.	0	0	0	0	0	0	2	0
*	**Total Commrs.**	**0**	**0**	**1**	**0**	**3**	**0**	**24**	**30**
*	**Total of M.S**	**2**	**2**	**2**	**1**	**13**	**1**	**63**	**214**

तक्ता क्र.१३ (ब) (चालू)

Table 13 B (Contd.)

Sr. No.	Unit	Motives of Murder			Motives of C. H. Not Amounting to Murder				
		Kidnapping & Abduction	Other Causes	Total	Gain	Property Dispute	Personal Vendetta Or Enmity	Dowry	Lunacy
1	2	19	20	21	22	23	24	25	26
1	Akola	0	17	44	0	0	0	0	0
2	Amravati Rural	0	45	60	0	0	0	0	0
3	Buldhana	0	16	54	0	0	1	0	0
4	Yavatmal	0	56	75	0	0	0	0	0
5	Washim	0	14	26	0	0	0	0	0
*	**Amravati Range**	**0**	**148**	**259**	**0**	**0**	**1**	**0**	**0**
6	Aurangabad Rural	0	49	54	0	0	0	0	0
7	Jalna	0	11	40	0	0	0	0	0
8	Beed	0	46	66	0	0	0	0	0
9	Osmanabad	0	25	39	0	0	0	0	0
*	**Aurangabad Range**	**0**	**131**	**199**	**0**	**0**	**0**	**0**	**0**
10	Nanded	0	41	60	0	0	0	0	0
11	Latur	1	25	59	0	0	0	0	0
12	Parbhani	0	29	45	0	0	0	0	0
13	Hingoli	0	26	35	0	0	0	0	0
*	**Nanded Range**	**1**	**121**	**199**	**0**	**0**	**0**	**0**	**0**
14	Kolhapur	0	30	47	0	0	0	0	0
15	Pune Rural	0	160	167	0	0	0	0	0
16	Sangli	0	30	56	0	0	0	0	0
17	Satara	0	39	57	0	0	0	0	0
18	Solapur Rural	0	48	70	0	0	0	0	0
*	**Kolhapur Range**	**0**	**307**	**397**	**0**	**0**	**0**	**0**	**0**
19	Bhandara	0	15	27	0	0	0	0	0
20	Chandrapur	0	24	29	0	0	0	0	0
21	Nagpur Rural	0	41	58	0	0	0	0	0
22	Wardha	0	42	46	0	0	0	0	0
*	**Nagpur Range**	**0**	**122**	**160**	**0**	**0**	**0**	**0**	**0**
23	Gadchiroli	0	40	52	0	0	0	0	0
24	Gondia	0	8	28	0	0	0	0	0
*	**Gadchiroli Range**	0	48	80	0	0	0	0	0
25	Ahmednagar	0	58	111	0	0	0	0	0
26	Dhule	0	30	35	0	0	0	0	0
27	Jalgaon	1	50	72	0	0	0	0	0
28	Nasik Rural	0	73	104	0	1	0	0	0
29	Nandurbar	0	18	31	0	0	0	0	0
*	**Nasik Range**	**1**	**229**	**353**	**0**	**1**	**0**	**0**	**0**
30	Raigad	0	62	92	0	0	0	0	0
31	Ratnagiri	0	14	35	0	0	0	0	0
32	Sindhudurg	0	9	14	0	0	0	0	0
33	Thane Rural	0	7	9	0	0	0	0	0
34	Palghar	0	41	53	0	0	0	0	0
*	**Thane Range**	**0**	**133**	**203**	**0**	**0**	**0**	**0**	**0**
35	Mumbai Railway	0	3	6	1	0	0	0	0
36	Pune Railway	0	7	7	0	0	0	0	0
37	Nagpur Railway	0	3	5	0	0	0	0	0
*	**Railway Range**	**0**	**13**	**18**	**1**	**0**	**0**	**0**	**0**
38	Nagpur Commr.	1	50	79	0	0	0	0	0
39	Pune Commr.	1	101	125	0	0	0	0	0
40	Thane Commr.	1	82	106	1	0	0	0	0
41	Mumbai Commr.	2	123	169	0	0	0	0	0
42	Nasik Commr.	0	10	40	0	0	0	0	0
43	Aurangabad Commr.	0	31	35	0	0	0	0	0
44	Solapur Commr.	0	13	15	0	0	0	0	0
45	Navi Mumbai	0	31	48	0	0	0	0	0
46	Amravati Commr.	0	16	24	0	0	1	0	0
*	**Total Commrs.**	**5**	**457**	**641**	**1**	**0**	**1**	**0**	**0**
*	**Total of M.S**	**7**	**1709**	**2509**	**2**	**1**	**2**	**0**	**0**

तक्ता क्र.१३ (ब) (चालू)

Table 13 B (Contd.)

Motives of C. H. not Amounting to Murder									
Sr. No.	Unit	Witch Craft	Child/ Human Sacrifice	Commu-nalism	Casteism	Class Conflict	Political Reasons	Honour Killing	Rape
1	2	27	28	29	30	31	32	33	34
1	Akola	0	0	0	0	0	0	0	0
2	Amravati Rural	0	0	0	0	0	0	0	0
3	Buldhana	0	0	0	0	0	0	0	0
4	Yavatmal	0	0	0	0	0	0	0	0
5	Washim	0	0	0	0	0	0	0	0
*	**Amravati Range**	**0**	**0**	**0**	**0**	**0**	**0**	**0**	**0**
6	Aurangabad Rural	0	0	0	0	0	0	0	0
7	Jalna	0	0	0	0	0	0	0	0
8	Beed	0	0	0	0	0	0	0	0
9	Osmanabad	0	0	0	0	0	0	0	0
*	**Aurangabad Range**	**0**	**0**	**0**	**0**	**0**	**0**	**0**	**0**
10	Nanded	0	0	0	0	0	0	0	0
11	Latur	0	0	0	0	0	0	0	0
12	Parbhani	0	0	0	0	0	0	0	0
13	Hingoli	0	0	0	0	0	0	0	0
*	**Nanded Range**	**0**	**0**	**0**	**0**	**0**	**0**	**0**	**0**
14	Kolhapur	0	0	0	0	0	0	0	0
15	Pune Rural	0	0	0	0	0	0	0	0
16	Sangli	0	0	0	0	0	0	0	0
17	Satara	0	0	0	0	0	0	0	0
18	Solapur Rural	0	0	0	0	0	0	0	0
*	**Kolhapur Range**	**0**	**0**	**0**	**0**	**0**	**0**	**0**	**0**
19	Bhandara	0	0	0	0	0	0	0	0
20	Chandrapur	0	0	0	0	0	0	0	0
21	Nagpur Rural	0	0	0	0	0	0	0	0
22	Wardha	0	0	0	0	0	0	0	0
*	**Nagpur Range**	**0**	**0**	**0**	**0**	**0**	**0**	**0**	**0**
23	Gadchiroli	0	0	0	0	0	0	0	0
24	Gondia	0	0	0	0	0	0	0	0
*	**Gadchiroli Range**	**0**	**0**	**0**	**0**	**0**	**0**	**0**	**0**
25	Ahmednagar	0	0	0	0	0	0	0	0
26	Dhule	0	0	0	0	0	0	0	0
27	Jalgaon	0	0	0	0	0	0	0	0
28	Nasik Rural	0	0	0	0	0	0	0	0
29	Nandurbar	0	0	0	0	0	0	0	0
*	**Nasik Range**	**0**	**0**	**0**	**0**	**0**	**0**	**0**	**0**
30	Raigad	0	0	0	0	0	0	0	0
31	Ratnagiri	0	0	0	0	2	0	0	0
32	Sindhudurg	0	0	0	0	0	0	0	0
33	Thane Rural	0	0	0	0	0	0	0	0
34	Palghar	0	0	0	0	0	0	0	0
*	**Thane Range**	**0**	**0**	**0**	**0**	**2**	**0**	**0**	**0**
35	Mumbai Railway	0	0	0	0	0	0	0	0
36	Pune Railway	0	0	0	0	0	0	0	0
37	Nagpur Railway	0	0	0	0	0	0	0	0
*	**Railway Range**	**0**	**0**	**0**	**0**	**0**	**0**	**0**	**0**
38	Nagpur Commr.	0	0	0	0	0	0	0	0
39	Pune Commr.	0	0	0	0	0	0	0	0
40	Thane Commr.	0	0	0	0	0	0	0	0
41	Mumbai Commr.	0	0	0	0	0	0	0	0
42	Nasik Commr.	0	0	0	0	0	0	0	0
43	Aurangabad Commr.	0	0	0	0	0	0	0	0
44	Solapur Commr.	0	0	0	0	0	0	0	0
45	Navi Mumbai	0	0	0	0	0	0	0	0
46	Amravati Commr.	0	0	0	0	0	0	0	0
*	**Total Commrs.**	**0**	**0**	**0**	**0**	**0**	**0**	**0**	**0**
*	**Total of M.S**	**0**	**0**	**0**	**0**	**2**	**0**	**0**	**0**

तक्ता क्र.१३ (ब) (पूर्ण)

Table 13 B (Concluded)

Motives of C. H. not Amounting to Murder							
Sr. No.	Unit	Gang Rape	Love Affairs	Illicit Relationship	Kidnapping & Abduction	Other Causes	Total
1	2	35	36	37	38	39	40
1	Akola	0	0	0	0	2	2
2	Amravati Rural	0	0	0	0	2	2
3	Buldhana	0	0	0	0	3	4
4	Yavatmal	0	0	0	0	4	4
5	Washim	0	0	0	0	7	7
*	**Amravati Range**	**0**	**0**	**0**	**0**	**18**	**19**
6	Aurangabad Rural	0	0	0	0	2	2
7	Jalna	0	0	0	0	2	2
8	Beed	0	0	0	0	6	6
9	Osmanabad	0	0	0	0	1	1
*	**Aurangabad Range**	**0**	**0**	**0**	**0**	**11**	**11**
10	Nanded	0	0	0	0	1	1
11	Latur	0	0	0	0	3	3
12	Parbhani	0	0	0	0	1	1
13	Hingoli	0	0	0	0	3	3
*	**Nanded Range**	**0**	**0**	**0**	**0**	**8**	**8**
14	Kolhapur	0	0	0	0	7	7
15	Pune Rural	0	0	0	0	11	11
16	Sangli	0	0	0	0	3	3
17	Satara	0	0	0	0	6	6
18	Solapur Rural	0	0	0	0	4	4
*	**Kolhapur Range**	**0**	**0**	**0**	**0**	**31**	**31**
19	Bhandara	0	0	0	0	2	2
20	Chandrapur	0	0	0	0	4	4
21	Nagpur Rural	0	0	0	0	5	5
22	Wardha	0	0	0	0	5	5
*	**Nagpur Range**	**0**	**0**	**0**	**0**	**16**	**16**
23	Gadchiroli	0	0	0	0	3	3
24	Gondia	0	0	0	0	0	0
*	**Gadchiroli Range**	**0**	**0**	**0**	**0**	**3**	**3**
25	Ahmednagar	0	0	0	0	5	5
26	Dhule	0	0	2	0	1	3
27	Jalgaon	0	0	0	0	4	4
28	Nasik Rural	0	0	0	0	1	2
29	Nandurbar	0	0	0	0	4	4
*	**Nasik Range**	**0**	**0**	**2**	**0**	**15**	**18**
30	Raigad	0	0	0	0	2	2
31	Ratnagiri	0	0	0	0	4	6
32	Sindhudurg	0	0	0	0	4	4
33	Thane Rural	0	0	0	0	0	0
34	Palghar	0	1	0	0	3	4
*	**Thane Range**	**0**	**1**	**0**	**0**	**13**	**16**
35	Mumbai Railway	0	0	0	0	0	1
36	Pune Railway	0	0	0	0	0	0
37	Nagpur Railway	0	0	0	0	0	0
*	**Railway Range**	**0**	**0**	**0**	**0**	**0**	**1**
38	Nagpur Commr.	0	0	0	0	2	2
39	Pune Commr.	0	0	0	0	3	3
40	Thane Commr.	0	0	0	0	0	1
41	Mumbai Commr.	0	0	0	0	3	3
42	Nasik Commr.	0	0	0	0	0	0
43	Aurangabad Commr.	0	0	0	0	2	2
44	Solapur Commr.	0	0	0	0	10	10
45	Navi Mumbai	0	0	0	0	0	0
46	Amravati Commr.	0	0	0	0	6	7
*	**Total Commrs.**	**0**	**0**	**0**	**0**	**26**	**28**
*	**Total of M.S**	**0**	**1**	**2**	**0**	**141**	**151**

तक्ता क्र. १३ क

लिंग व वयोगटानुसार खुनातील बळींचा तपशील (जिल्हा /आयुक्तालय - निहाय) - २०१५

TABLE NO. 13 - C

Age Group-Wise Victims of Murder During 2015, Distirct/Commis-wise

Sr. No.	Unit	Number Of Victims								
		Below 6 years			6 yrs & Above – Below 12 years			12 yrs & Above –Below 16 yrs		
		M	F	T	M	F	T	M	F	T
1	2	3	4	5	6	7	8	9	10	11
1	Akola	1	0	1	1	0	1	0	2	2
2	Amravati Rural	1	0	1	0	0	0	1	0	1
3	Buldhana	2	0	2	4	3	7	1	0	1
4	Yavatmal	0	0	0	2	1	3	0	1	1
5	Washim	2	0	2	0	0	0	1	0	1
*	**Amravati Range**	**6**	**0**	**6**	**7**	**4**	**11**	**3**	**3**	**6**
6	Aurangabad Rural	0	2	2	4	0	4	0	0	0
7	Jalna	1	0	1	1	1	2	0	0	0
8	Beed	2	4	6	0	2	2	1	3	4
9	Osmanabad	1	4	5	0	2	2	0	0	0
*	**Aurangabad Range**	**4**	**10**	**14**	**5**	**5**	**10**	**1**	**3**	**4**
10	Nanded	1	3	4	1	2	3	1	0	1
11	Latur	0	1	1	0	0	0	0	0	0
12	Parbhani	1	0	1	0	2	2	0	0	0
13	Hingoli	0	1	1	1	1	2	0	1	1
*	**Nanded Range**	**2**	**5**	**7**	**2**	**5**	**7**	**1**	**1**	**2**
14	Kolhapur	0	1	1	0	0	0	0	1	1
15	Pune Rural	0	3	3	0	0	0	0	2	2
16	Sangli	3	1	4	1	1	2	2	0	2
17	Satara	1	5	6	0	0	0	1	0	1
18	Solapur Rural	2	3	5	1	3	4	0	1	1
*	**Kolhapur Range**	**6**	**13**	**19**	**2**	**4**	**6**	**3**	**4**	**7**
19	Bhandara	1	0	1	0	0	0	1	0	1
20	Chandrapur	1	1	2	0	2	2	0	1	1
21	Nagpur Rural	2	0	2	0	0	0	0	0	0
22	Wardha	1	1	2	0	0	0	0	0	0
*	**Nagpur Range**	**5**	**2**	**7**	**0**	**2**	**2**	**1**	**1**	**2**
23	Gadchiroli	0	0	0	0	1	1	0	0	0
24	Gondia	0	0	0	1	0	1	0	0	0
*	**Gadchiroli Range**	**0**	**0**	**0**	**1**	**1**	**2**	**0**	**0**	**0**
25	Ahmednagar	3	7	10	0	0	0	2	1	3
26	Dhule	1	1	2	0	0	0	1	0	1
27	Jalgaon	2	1	3	1	0	1	1	1	2
28	Nasik Rural	1	2	3	2	3	5	1	0	1
29	Nandurbar	2	1	3	0	1	1	0	0	0
*	**Nasik Range**	**9**	**12**	**21**	**3**	**4**	**7**	**5**	**2**	**7**
30	Raigad	0	1	1	1	0	1	1	1	2
31	Ratnagiri	0	0	0	0	0	0	0	0	0
32	Sindhudurg	0	1	1	0	0	0	0	0	0
33	Thane Rural	1	0	1	1	0	1	0	0	0
34	Palghar	0	1	1	2	2	4	1	0	1
*	**Thane Range**	**1**	**3**	**4**	**4**	**2**	**6**	**2**	**1**	**3**
35	Mumbai Railway	0	0	0	0	0	0	0	0	0
36	Pune Railway	0	0	0	0	0	0	0	0	0
37	Nagpur Railway	0	0	0	0	0	0	0	0	0
*	**Railway Range**	**0**	**0**	**0**	**0**	**0**	**0**	**0**	**0**	**0**
38	Nagpur Commr.	0	0	0	1	0	1	0	1	1
39	Pune Commr.	1	4	5	0	0	0	1	0	1
40	Thane Commr.	2	1	3	0	1	1	1	0	1
41	Mumbai Commr.	4	3	7	1	2	3	3	0	3
42	Nasik Commr.	0	0	0	0	0	0	1	0	1
43	Aurangabad Commr.	0	4	4	1	0	1	0	0	0
44	Solapur Commr.	0	0	0	1	1	2	0	0	0
45	Navi Mumbai	1	2	3	0	1	1	0	1	1
46	Amravati Commr.	0	0	0	0	0	0	1	0	1
*	**Total Commrs.**	**8**	**14**	**22**	**4**	**5**	**9**	**7**	**2**	**9**
*	**Total of M.S**	**41**	**59**	**100**	**28**	**32**	**60**	**23**	**17**	**40**

तक्ता क्र. १३ (क)(चालू)

Table No. 13 (C)(Contd.)

Sr. No.	Unit	Number Of Victims								
		16 yrs & Above- Below 18 years			18 yrs & Above – Below 30 years			30 yrs & Above – Below 45 years		
		M	F	T	M	F	T	M	F	T
1	2	12	13	14	15	16	17	18	19	20
1	Akola	2	0	2	6	9	15	12	6	18
2	Amravati Rural	0	0	0	9	4	13	13	10	23
3	Buldhana	0	1	1	8	11	19	7	10	17
4	Yavatmal	2	0	2	15	6	21	22	9	31
5	Washim	0	0	0	4	6	10	7	2	9
*	**Amravati Range**	**4**	**1**	**5**	**42**	**36**	**78**	**61**	**37**	**98**
6	Aurangabad Rural	1	0	1	7	13	20	13	2	15
7	Jalna	0	0	0	9	0	9	13	9	22
8	Beed	1	1	2	12	10	22	11	7	18
9	Osmanabad	0	0	0	3	10	13	5	4	9
*	**Aurangabad Range**	**2**	**1**	**3**	**31**	**33**	**64**	**42**	**22**	**64**
10	Nanded	0	0	0	5	14	19	11	10	21
11	Latur	0	0	0	21	11	32	17	3	20
12	Parbhani	0	0	0	6	11	17	12	5	17
13	Hingoli	0	3	3	6	8	14	9	4	13
*	**Nanded Range**	**0**	**3**	**3**	**38**	**44**	**82**	**49**	**22**	**71**
14	Kolhapur	0	0	0	15	4	19	9	3	12
15	Pune Rural	3	3	6	18	21	39	38	12	50
16	Sangli	1	0	1	11	6	17	10	6	16
17	Satara	0	0	0	11	3	14	13	5	18
18	Solapur Rural	0	0	0	12	7	19	19	11	30
*	**Kolhapur Range**	4	3	7	67	41	108	89	37	126
19	Bhandara	1	0	1	4	4	8	4	7	11
20	Chandrapur	0	0	0	6	0	6	7	5	12
21	Nagpur Rural	2	0	2	15	7	22	8	7	15
22	Wardha	0	0	0	12	5	17	12	8	20
*	**Nagpur Range**	3	0	3	37	16	53	31	27	58
23	Gadchiroli	0	0	0	16	7	23	15	3	18
24	Gondia	0	0	0	4	5	9	6	6	12
*	**Gadchiroli Range**	0	0	0	20	12	32	21	9	30
25	Ahmednagar	0	0	0	23	20	43	29	5	34
26	Dhule	0	0	0	6	7	13	9	6	15
27	Jalgaon	2	1	3	18	10	28	12	8	20
28	Nasik Rural	1	0	1	34	16	50	17	11	28
29	Nandurbar	0	0	0	6	3	9	4	6	10
*	**Nasik Range**	3	1	4	87	56	143	71	36	107
30	Raigad	0	0	0	6	7	13	4	5	9
31	Ratnagiri	0	0	0	5	1	6	2	3	5
32	Sindhudurg	0	0	0	1	0	1	3	1	4
33	Thane Rural	1	0	1	12	9	21	19	5	24
34	Palghar	0	0	0	35	12	47	22	7	29
*	**Thane Range**	1	0	1	59	29	88	50	21	71
35	Mumbai Railway	0	0	0	3	1	4	1	0	1
36	Pune Railway	0	0	0	1	0	1	4	0	4
37	Nagpur Railway	0	0	0	3	0	3	2	2	4
*	**Railway Range**	0	0	0	7	1	8	7	2	9
38	Nagpur Commr.	1	0	1	32	3	35	26	9	35
39	Pune Commr.	0	0	0	42	10	52	32	16	48
40	Thane Commr.	0	0	0	33	12	45	35	6	41
41	Mumbai Commr.	3	2	5	49	18	67	48	13	61
42	Nasik Commr.	1	0	1	13	6	19	5	6	11
43	Aurangabad Commr.	0	0	0	5	6	11	3	10	13
44	Solapur Commr.	0	0	0	3	2	5	5	1	6
45	Navi Mumbai	1	0	1	14	8	22	8	7	15
46	Amravati Commr.	0	0	0	6	2	8	9	2	11
*	**Total Commrs.**	**6**	**2**	**8**	**197**	**67**	**264**	**171**	**70**	**241**
*	**Total of M.S**	**23**	**11**	**34**	**585**	**335**	**920**	**592**	**283**	**875**

तक्ता क्र. १३(क) (पूर्ण)

TABLE NO. 13 C (Concluded)

Number Of Victims										
Sr. No.	Unit	45 yrs & Above – Below 60 Years			60 yrs & Above			Total Of All Age Groups		
		M	F	T	M	F	T	M	F	T
1	**2**	**21**	**22**	**23**	**24**	**25**	**26**	**27**	**28**	**29**
1	Akola	5	1	6	5	2	7	32	20	52
2	Amravati Rural	15	2	17	8	1	9	47	17	64
3	Buldhana	7	2	9	2	0	2	31	27	58
4	Yavatmal	10	2	12	5	0	5	56	19	75
5	Washim	2	0	2	2	0	2	18	8	26
*	**Amravati Range**	**39**	**7**	**46**	**22**	**3**	**25**	**184**	**91**	**275**
6	Aurangabad Rural	9	1	10	2	0	2	36	18	54
7	Jalna	7	3	10	0	0	0	31	13	44
8	Beed	10	5	15	1	1	2	38	33	71
9	Osmanabad	6	3	9	3	2	5	18	25	43
*	**Aurangabad Range**	**32**	**12**	**44**	**6**	**3**	**9**	**123**	**89**	**212**
10	Nanded	8	1	9	7	1	8	34	31	65
11	Latur	3	0	3	3	0	3	44	15	59
12	Parbhani	4	2	6	1	1	2	24	21	45
13	Hingoli	1	1	2	1	1	2	18	20	38
*	**Nanded Range**	**16**	**4**	**20**	**12**	**3**	**15**	**120**	**87**	**207**
14	Kolhapur	7	1	8	7	1	8	38	11	49
15	Pune Rural	36	16	52	13	3	16	108	60	168
16	Sangli	8	3	11	4	5	9	40	22	62
17	Satara	11	3	14	4	1	5	41	17	58
18	Solapur Rural	6	1	7	4	3	7	44	29	73
*	**Kolhapur Range**	**68**	**24**	**92**	**32**	**13**	**45**	**271**	**139**	**410**
19	Bhandara	1	0	1	4	2	6	16	13	29
20	Chandrapur	2	2	4	2	2	4	18	13	31
21	Nagpur Rural	9	5	14	3	0	3	39	19	58
22	Wardha	4	1	5	3	1	4	32	16	48
*	**Nagpur Range**	**16**	**8**	**24**	**12**	**5**	**17**	**105**	**61**	**166**
23	Gadchiroli	5	2	7	7	1	8	43	14	57
24	Gondia	4	1	5	1	0	1	16	12	28
*	**Gadchiroli Range**	**9**	**3**	**12**	**8**	**1**	**9**	**59**	**26**	**85**
25	Ahmednagar	10	4	14	5	2	7	72	39	111
26	Dhule	3	0	3	2	1	3	22	15	37
27	Jalgaon	6	3	9	5	1	6	47	25	72
28	Nasik Rural	8	7	15	3	1	4	67	40	107
29	Nandurbar	9	0	9	0	0	0	21	11	32
*	**Nasik Range**	**36**	**14**	**50**	**15**	**5**	**20**	**229**	**130**	**359**
30	Raigad	6	0	6	2	1	3	20	15	35
31	Ratnagiri	0	0	0	3	0	3	10	4	14
32	Sindhudurg	2	1	3	0	0	0	6	3	9
33	Thane Rural	8	1	9	0	0	0	42	15	57
34	Palghar	6	2	8	4	0	4	70	24	94
*	**Thane Range**	**22**	**4**	**26**	**9**	**1**	**10**	**148**	**61**	**209**
35	Mumbai Railway	1	0	1	0	0	0	5	1	6
36	Pune Railway	0	0	0	0	0	0	5	0	5
37	Nagpur Railway	0	0	0	0	0	0	5	2	7
*	**Railway Range**	**1**	**0**	**1**	**0**	**0**	**0**	**15**	**3**	**18**
38	Nagpur Commr.	10	2	12	0	1	1	70	16	86
39	Pune Commr.	12	4	16	4	1	5	92	35	127
40	Thane Commr.	11	3	14	2	0	2	84	23	107
41	Mumbai Commr.	13	7	20	3	3	6	124	48	172
42	Nasik Commr.	5	1	6	1	1	2	26	14	40
43	Aurangabad Commr.	2	0	2	3	2	5	14	22	36
44	Solapur Commr.	1	1	2	0	0	0	10	5	15
45	Navi Mumbai	5	2	7	1	0	1	30	21	51
46	Amravati Commr.	2	1	3	0	1	1	18	6	24
*	**Total Commrs.**	**61**	**21**	**82**	**14**	**9**	**23**	**468**	**190**	**658**
*	**Total of M.S**	**300**	**97**	**397**	**130**	**43**	**173**	**1722**	**877**	**2599**

तक्ता क्र.१३ (ड)

सन २०१५ मधील अग्निशस्त्रांचा वापर करुन केलेल्या खूनातील बळींची संख्या

Table No. 13D

Number of Victims Murdered by Use of Fire Arms During 2015

No. Of Victims Murdered				
Sr. No.	Unit	By Firearms (Licensed + Unlicensed)	By Licensed Arms	By Unlicensed Arms
1	2	3	4	5
1	Akola	0	0	0
2	Amravati Rural	0	0	0
3	Buldhana	0	0	0
4	Yavatmal	0	0	0
5	Washim	0	0	0
*	**Amravati Range**	**0**	**0**	**0**
6	Aurangabad Rural	0	0	0
7	Jalna	0	0	0
8	Beed	0	0	0
9	Osmanabad	0	0	0
*	**Aurangabad Range**	**0**	**0**	**0**
10	Nanded	0	0	0
11	Latur	0	0	0
12	Parbhani	0	0	0
13	Hingoli	0	0	0
*	**Nanded Range**	**0**	**0**	**0**
14	Kolhapur	1	0	1
15	Pune Rural	6	0	6
16	Sangli	2	0	2
17	Satara	2	0	2
18	Solapur Rural	1	0	1
*	**Kolhapur Range**	12	0	12
19	Bhandara	0	0	0
20	Chandrapur	0	0	0
21	Nagpur Rural	0	0	0
22	Wardha	0	0	0
*	**Nagpur Range**	**0**	**0**	**0**
23	Gadchiroli	12	0	12
24	Gondia	1	0	1
*	**Gadchiroli Range**	**13**	**0**	**13**
25	Ahmednagar	0	0	0
26	Dhule	0	0	0
27	Jalgaon	1	0	1
28	Nasik Rural	1	0	1
29	Nandurbar	0	0	0
*	**Nasik Range**	**2**	**0**	**2**
30	Raigad	0	0	0
31	Ratnagiri	0	0	0
32	Sindhudurg	1	0	1
33	Thane Rural	3	0	3
34	Palghar	0	0	0
*	**Thane Range**	**4**	**0**	**4**
35	Mumbai Railway	0	0	0
36	Pune Railway	0	0	0
37	Nagpur Railway	0	0	0
*	**Railway Range**	**0**	**0**	**0**
38	Nagpur Commr.	0	0	0
39	Pune Commr.	1	0	1
40	Thane Commr.	3	0	3
41	Mumbai Commr.	1	0	1
42	Nasik Commr.	0	0	0
43	Aurangabad Commr.	0	0	0
44	Solapur Commr.	0	0	0
45	Navi Mumbai	0	0	0
46	Amravati Commr.	0	0	0
*	**Total Commrs.**	**5**	**0**	**5**
*	**Total of M.S**	**36**	**0**	**36**

प्रकरण -४
पोलीस आणि न्यायालयांकडून गुन्हयांची निर्गती

पोलिसांकडून निर्गती

भा.दं.वि. खालील गुन्हे

४.१.१ महाराष्ट्र राज्यात सन २०१५ मध्ये मागील वर्षाच्या प्रलंबित गुन्हयांसह एकूण ४२०६६८ गुन्हे तपासावर किंवा निर्गतीसाठी प्रलंबित होते. टक्केवारीच्या दृष्टीने भा.दं.वि. खालील ५९.९ टक्के (२५१८२८) गुन्हयांची चालू वर्षात तपासाअंती निर्गती करण्यात आली. पोलीस निर्गतीसाठी प्रलंबित असलेल्या गुन्हयांचे प्रमाण ४०.१% इतके असून वर्षा अखेरीस १६८८३९ गुन्हे तपासावर प्रलंबित होते. सन २०१५ मध्ये भा.दं.वि. खालील विविध गुन्हयांची पोलिसांकडून करण्यात आलेली निर्गती, तक्ता क्र. १४ मध्ये दर्शविण्यात आलेली आहे. सन २०१५ मध्ये भादंवि खालील गुन्हयांची पोलिसांकडून करण्यात आलेल्या निर्गतीची घटक-निहाय माहिती, तक्ता क्र. १५ मध्ये दर्शविण्यात आली आहे.

४.१.२ गेल्या पाच वर्षापासून पोलीस निर्गतीमध्ये, प्रलंबित भा.दं.वि. गुन्हयांचे प्रमाण पाहता सन २०१२ ते २०१५ या काळात हे प्रमाण वाढत असल्याचे दिसून येते. सन २०१२ मध्ये ३६.३%, सन २०१३ मध्ये ३८.१%, २०१४ मध्ये ३८% व सन २०१५ मध्ये ४०.१% आहे. गेल्या चार वर्षातील भादंवि गुन्हयांची निर्गती आणि प्रलंबित गुन्हयांचे विवरण खालील आलेखात दाखविण्यात आलेले आहे.

CHAPTER - 4
DISPOSAL OF CASES BY POLICE AND COURTS

Disposal by Police

Cases under IPC

4.1.1 During the year 2015, 420668 cases including those pending from the previous year were either awaiting disposal or were under investigation by police in Maharashtra. 59.9 percent (251828) of these cases have been disposed off during the current year. Total 168839 cases remained pending for investigation at the end of the year i.e. 40.1% of total cases are under investigation. Table No.14 presents the details of police disposal of various IPC crimes during 2015. Table No.15 presents the unit-wise details, percentage of disposal of various IPC Crimes by the police during 2015 .

4.1.2 In last 5 years, pendency of IPC cases awaiting Police disposal has increased. During 2012 it was 36.3%, during 2013 it was 38.1%, during 2014 it was 38% & it is 40.1% during the year 2015. A graphical presentation of Police disposal and pendency during the last 4 years can be seen in the chart below.

आलेख क्र. ४.१

भादंवि गुन्हयांचा तपास आणि निर्गती

CHART No. 4.1

IPC Cases Under Investigation & Disposal

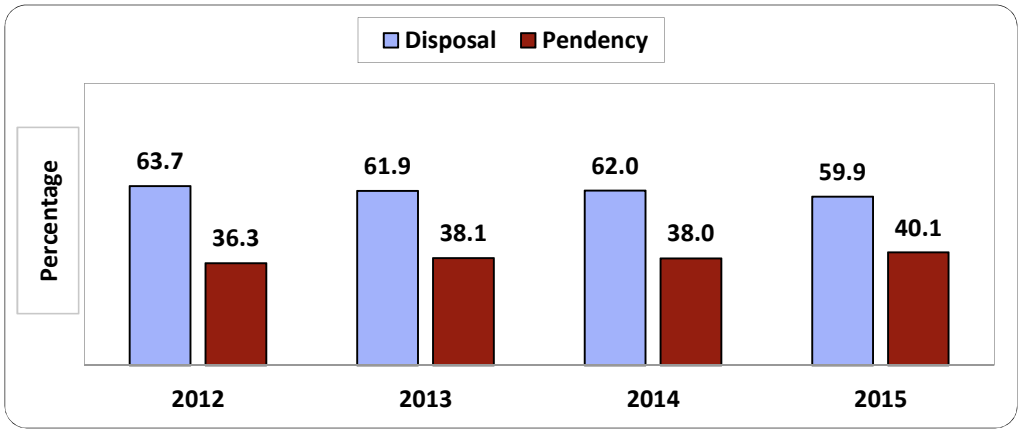

४.१.३ पोलीस तपासावर प्रलंबित असलेल्या भादंवि गुन्हयांच्या विविध शीर्षकांनुसार केलेले विश्लेषण पाहता, बनावट नाणी / चलन संदर्भातील गुन्हे मोठ्या प्रमाणात म्हणजे ८३.१% तपासावर प्रलंबित असल्याचे दिसून येते. स्त्रियांविरूध्दच्या गुन्हयांच्या निर्गतीचे प्रमाण हे इतर गुन्हयांच्या निर्गतीचे प्रमाणापेक्षा चांगले आहे. या गुन्हयांची पोलिसांकडून करण्यात आलेल्या निर्गतीची टक्केवारी पती किंवा त्याचे नातेवाईकांकडून छळ ६३.३५%, विनयभंग ६१.३२%, हुंडाबळी ६८.७८ % असे आहे. सन २०१५ मध्ये पोलिसांनी तपास केलेल्या एकूण गुन्हयांपैकी ४१.५% गुन्हयांमध्ये दोषारोपपत्र दाखल करण्यात आले आहेत. तपासाअंती अंतिम अहवाल (अ वर्गवारी) सादर करण्यात आलेल्या गुन्हयांची टक्केवारी १५.८१% आहे. मागील वर्षाशी तुलना करता, पोलीस निर्गतीच्या प्रमाणात चालू वर्षी अंशतः घट झाल्याचे दिसून येते . सन २०१४ मध्ये ते ६२% होते, तर २०१५ मध्ये ५९.८६% इतके आहे.

4.1.3 Analysis of crimes under diffrent heads of pending IPC cases, Police investigation shows the highest pendency is of Counterfeiting (83.1% cases). Disposal by Police in cases relating to crime against women is better than other offences. Head-wise break-up of disposal of crimes under different heads is : Cruelty By Husband or Relatives 63.35%, Molestation 61.32%, Dowry Deaths 68.78%. During 2015, 41.5% cases are charge-sheeted and 15.81% cases are finalized as true but undetected ('A' Final). Marginal decrease is observed in Police disposal during 2015 as compared to the year 2014. During 2014 it was 62% as against 59.86% in 2015.

आलेख क्र. ४.२

सन २०१५ मधील भादंवि गुन्हयांची पोलीस निर्गतीची टक्केवारी

CHART No. 4.2

Percentage Of Disposal Of I.P.C. Cases By Police - 2015

Crime Head	Disposal
Murder	66.71
Rape	63.40
Kid & Abd.	54.96
Dacoity	58.97
Robbery	61.28
Burglary	57.05
Theft	55.64
Riots	60.77
Arson	61.80
Dowry Deaths	68.78
Assault on women with intent to outrage her Modesty	61.32

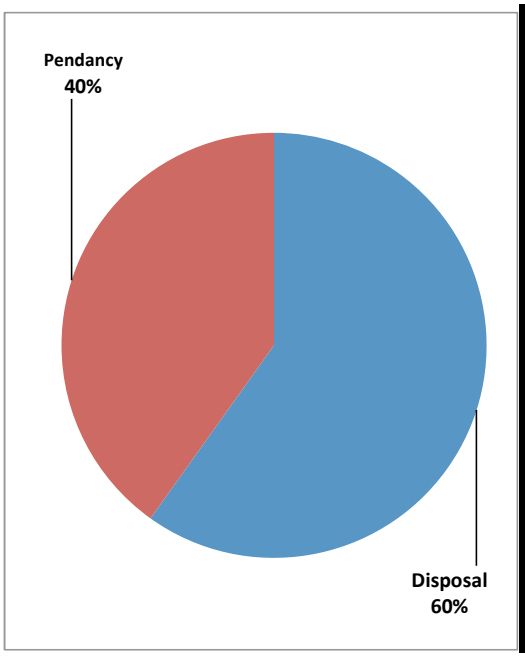

Crime Head	Pendancy
Murder	33.29
Rape	36.60
Kid & Abd.	45.04
Dacoity	41.03
Robbery	38.72
Burglary	42.95
Theft	44.46
Riots	39.23
Arson	38.20
Dowry Deaths	31.22
Assault on women with intent to outrage her Modesty	38.68

४.१.४ सन २०१५ मध्ये पोलिस तपासावर असलेल्या ४२०६६८ गुन्हयांपैकी (मागील वर्षीच्या प्रलंबित गुन्हयांसह) १७४४९२ गुन्हयांमध्ये न्यायालयात दोषारोपपत्र दाखल करण्यात आले आहे. तपासवरील ४२०६६८ गुन्हयांपैकी ८५९७ गुन्हयांमध्ये (२.०४%) फिर्याद खोटी असल्याचे किंवा गैरसमजुतीने दाखल केल्याचे दिसून येते. वर्षाअखेरीस १६८८३९ गुन्हे तपासावर प्रलंबित राहिलेले आहेत. अपहरण व पळवून नेणे या शीर्षकाखाली ३८.८६% गुन्हयांमध्ये फिर्याद खोटी असल्याचे किंवा गैरसमजुतीने फिर्याद दाखल केल्याचे दिसून येते.

4.1.4 During 2015 out of total 420668 cases for investigation (including cases pending from previous year), 174492 cases are charge-sheeted by the police. Out of 420668 cases, charge is found false or mistake of fact or law in 8597 cases, which are 2.04%. In all 168839 cases remained pending for investigation at the end of the year. 38.86% cases of Kidnapping & Abduction are found to be either false or they were mistake of fact or law etc.

४.१.५ भादंवि खालील राज्याची एकूण प्रलंबित गुन्हयांची टक्केवारी (४०.१%) आहे. भा.दं.वि. खालील गुन्हयांचे घटक-निहाय निर्गतीचे प्रमाण पाहता त्या त्या घटकामध्ये तपासावर / निर्गतीसाठी प्रलंबित गुन्हयांशी तुलना करता सर्वात जास्त गुन्हे मुंबई शहर (६४.४%) येथे प्रलंबित असून त्याखालोखाल ठाणे ग्रामीण (४८.९%) आणि ठाणे शहर (४६.८%) असा क्रम आहे.

4.1.5 Unit-wise disposal of I.P.C. cases shows that Mumbai (C) (64.4%) has the highest pendency followed by Thane Rural (48.9%) and Thane (C) (46.8%) as compared to the State average, i.e. (40.1%) total pendency.

आलेख क्र. ४.३

महाराष्ट्र राज्यात तपासावर प्रलंबित असणा-या भा.दं.वि. गुन्हयांबाबत घटकांचा प्रतिशत वाटा

CHART No. 4.3

Unit-Wise Proportion Of Percentage Of Pendency Of I.P.C. Cases In The State

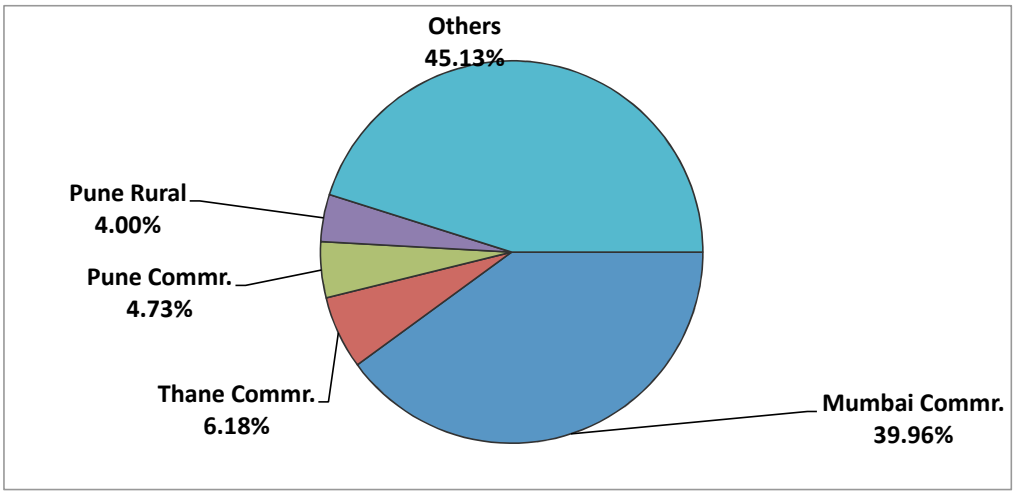

विशेष व स्थानिक कायद्याखालील गुन्हे

४.२.१ विशेष व स्थानिक कायद्याखालील विविध शीर्षकाखालील गुन्हयांची पोलिस निर्गतीची माहिती तक्ता क्र. १६ मध्ये देण्यात आलेली आहे. एकूण २०७८०५ गुन्हयांपैकी (यामध्ये मागील वर्षा मधील प्रलंबित गुन्हयांचा समावेश आहे.) सन २०१५ मध्ये ६५.४८% गुन्हयांची निर्गती करण्यात आली, भा.दं.वि. खालील एकूण गुन्हयांच्या निर्गतीची टक्केवारी ५९.९% असून त्याच्याशी तुलना करता, विशेष व स्थानिक गुन्हयाच्या निर्गतीची टक्केवारी ६५.४८% आहे. सन २०१५ अखेर विशेष व स्थानिक कायद्याखालील फक्त ७१७३९ म्हणजेच ३४.५२% गुन्हे तपासावर प्रलंबित होते. सन २०११ ते सन २०१५ या कालावधीतील विशेष व स्थानिक कायद्याखालील गुन्हयांची पोलिसांनी केलेली निर्गती व प्रलंबित गुन्हे यांची माहिती खालील आलेखात दर्शविण्यात आली आहे.

Cases under SLL

4.2.1 Disposal of S.L.L. cases by police under different crime heads is presented in the table No.16. Out of the total 207805 S.L.L. cases (including cases pending from previous years), police disposed off 65.48% cases, including cases where investigation is denied. This rate of disposal is better than that of the rate of disposal of IPC cases, i.e. 59.9%. Only 34.52% of S.L.L. cases, i.e. 71739 are pending for police disposal at the end of 2015. The following chart presents the comparative figures of police disposal / pendency of S.L.L. cases between 2011 to 2015.

आलेख क्र. ४.४

सन २०१२ ते २०१५ मधील वि.व स्था. कायद्याखालील गुन्हयांची पोलीसांकडून निर्गती व प्रलंबित गुन्हे

CHART No. 4.4

Percentage Of Disposal Of SLL Cases By Police During 2012 To 2015

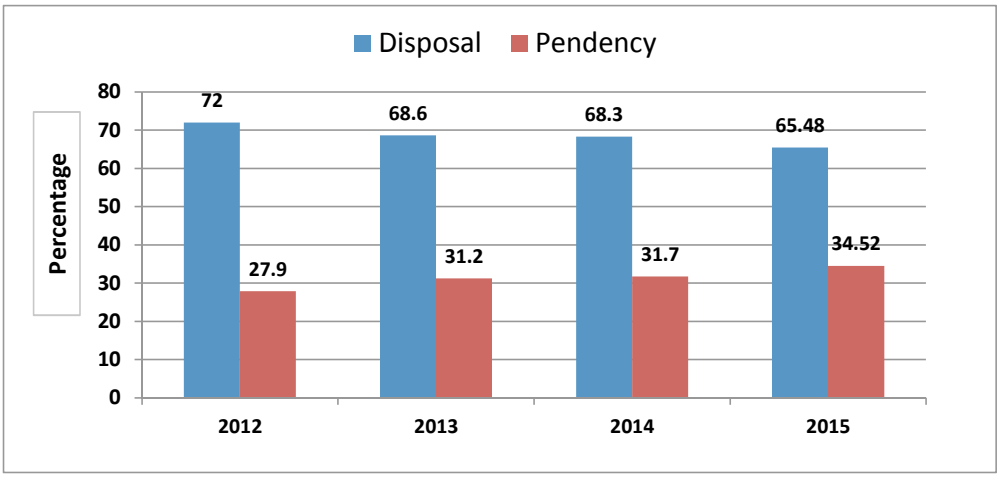

४.२.२ विशेष व स्थानिक कायद्याखालील प्रलंबित गुन्हयांची घटक-निहाय आकडेवारी तक्ता क्र.१७ मध्ये दिलेली आहे. राज्यात या सदरामध्ये सर्वात जास्त म्हणजे ९३.५२% गुन्हे सोलापूर शहर आयुक्तालय येथे तपासावर प्रलंबित आहेत. राज्याचे तपासावरील प्रलंबित गुन्हयांची टक्केवारी ३४.५२% इतकी आहे. राज्यपातळीवरील सरासरी पेक्षा जास्त गुन्हे तपासावर असणारे अन्य घटक पुढील प्रमाणे आहेत, ठाणे शहर (४४.८५%), पालघर (४३.९६%), पुणे ग्रामीण (४२.८३%), रायगड (४०.२०%) व मुबई शहर (३८.३०%).

4.2.2 The unit-wise pendency of S.L.L. cases for investigation by police is given in tables No.17 It reveals that Solapur (C) has the highest rate of pendency, i.e. 93.52%. The total pendency percentage for the State is 34.52% The other units which recorded a pendency percentage higher than that of the state average are Thane (C) (44.85%), Palghar (43.96%), Pune (R) (42.83%), Raigad (40.20%) & Mumbai (C) (38.30%).

४.२.३ विशेष व स्थानिक कायद्याखालील विविध गुन्हयांच्या निर्गतीचा तपशील तक्ता क्र. १६ मध्ये देण्यात आला आहे. त्याचे अवलोकन करता, एकुण प्रलंबित ७१७३९ गुन्हयांपैकी दारूबंदी कायद्याखालील ४०२१६ (५६.०६%) गुन्हे प्रलंबित आहेत.

4.2.3 Details of the disposal of various S.L.L. crimes are presented in Table No. 16. A study of this indicates that out of 71739 pending cases, total 40216 (56.06%) cases of Prohibition Act are pending at the end of year 2015.

आलेख क्र. ४.५

सन २०१५ मधील विशेष व स्थानिक कायद्याखालील गुन्हयांची पोलीसांनी केलेल्या निर्गतीचे प्रमाण

CHART No. 4.5

Percentage Of Disposal Of S.L.L. Cases By Police - 2015

Crime Head	Disposal
Arms Act	41.31
NDPS Act	77.84
Gambling Act	70.92
Proh. Act	59.08
Exp & Expl Subs	31.11
I. T (P) Act	28.76
E. C Act	49..55
Dowry (P) Act	85.71
SC/ST (Prevention of Atrocities) Act	62.15

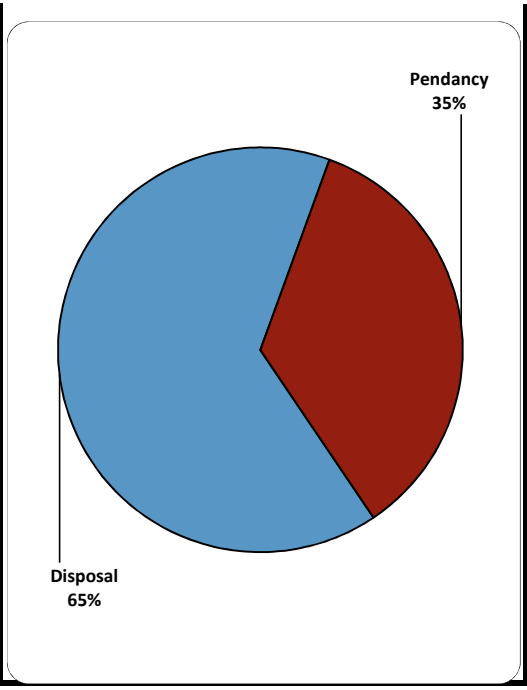

Crime Head	Pendancy
Arms Act	58.41
NDPS Act	22.16
Gambling Act	29.08
Proh. Act	40.92
Exp & Expl Subs	68.89
I. T (P) Act	71.24
E. C Act	50.38
Dowry (P) Act	14.29
SC/ST (Prevention of Atrocities) Act	37.77

न्यायालयांकडून निर्गती

भा.दं.वि. खालील गुन्हे

४.३.१ भा.दं.वि. खालील शीर्षकानुसार गुन्हयांची न्यायालयांकडून झालेल्या निर्गतीची आकडेवारी तक्ता क्र. १८ मध्ये देण्यात आली आहे. सन २०१५ मध्ये मागील वर्षाच्या प्रलंबित खटल्यांसह एकूण १५८५९८४ खटले सुनावणीस होते. मागील वर्षी १५३१९६६ गुन्हे न्यायालयांत सुनावणीस होते. मागील वर्षाशी तुलना करता चालू वर्षात सुनावणीस आलेल्या खटल्यांमध्ये ३.५३% वाढ झालेली आहे. सन २०१५ वर्षाअखेरीस राज्यातील वेगवेगळ्या फौजदारी न्यायालयांमध्ये एकूण १४५९१७८ खटले सुनावणीसाठी प्रलंबित राहिले आहेत. हे प्रमाण कोर्टातील एकूण गुन्हयांच्या ९२.२% इतके आहे. यावरून राज्यामध्ये वेगवेगळया न्यायालयांत सुनावणीसाठी मोठ्या प्रमाणात खटले प्रलंबित आहेत असे दिसून येते. म्हणजे न्यायालयांकडून खटले चालविण्याचे प्रमाण वाढलेले नाही आणि त्यामुळे वाढती गुन्हेगारी, पोलिसांनी केलेली गुन्हयांची निर्गती आणि त्यानुसार दोषारोपपत्र दाखल करण्याचे वाढलेले प्रमाण यांचा वर्षानुवर्ष मेळ जमलेला नाही. पोलिसांनी गुन्हयांची निर्गती करण्याचे आणि न्यायालयांनी खटले निकाली काढण्याचे गुणोत्तर २:१ असे आहे. या दोहोंमधील तफावत कमी करण्याची आवश्यकता आहे. खालील तक्त्यात सन २०११ ते सन २०१५ या कालावधीत भा.दं.वि. खालील गुन्हयांची न्यायालयांतून करण्यात आलेल्या निर्गती व प्रलंबनाची टक्केवारीची माहिती देण्यात आली आहे.

Disposal by Courts

Cases under I.P.C.

4.3.1 Table No. 18 indicates the status of disposal of head-wise IPC cases by courts. During 2015, the number of cases pending for trial (including pending cases from the previous years) were 1585984. There is an increase by 3.53% during this year as compared to the previous year 2014 (1531966). At the end of 2015 (1459178) cases, which constitute 92.2% of total cases, were pending for disposal before various criminal courts in the State. This indicates that the number of cases pending trial before various courts in the State is mounting. Evidently, the efficiency of the criminal courts has not matched with that of the increasing quantum of crime and the increased rate of disposal by the police. The ratio of disposal of cases by police & courts is 2:1. This wide gap needs to be reduced. The following chart presents the disposal and pendency Percentage of IPC cases by the courts during 2011 - 2015.

सन २०१२ ते २०१५ मधील भा.दं.वि. गुन्हयांची कोर्टाकडून निर्गती व प्रलंबन टक्केवारी

CHART No. 4.6

PERCENTAGE DISPOSAL AND PENDENCY OF IPC CASES BY COURTS DURING 2012-2015

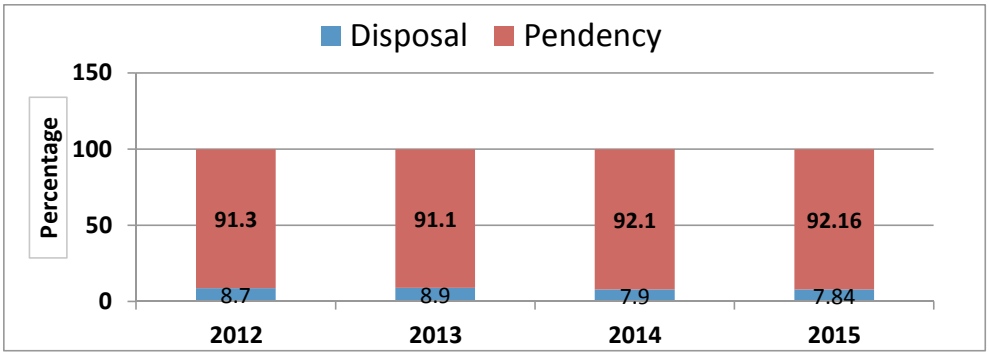

आलेख क्र. ४.७

भा.दं.वि. खालील न्यायालयांत सुनावणीसाठी दाखल खटल्यांची निर्गती व प्रलंबन

CHART No. 4.7

Disposal And Pendency Of IPC Cases For Trial In The Courts.

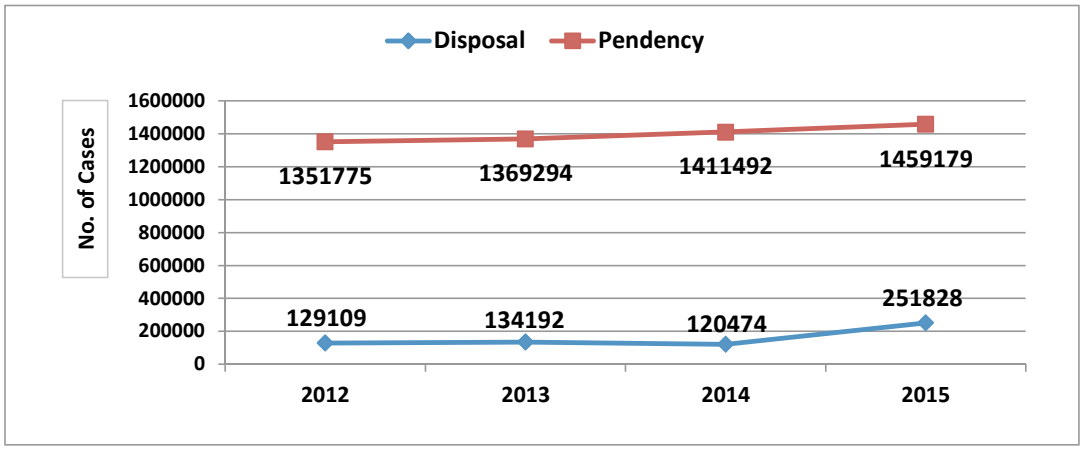

४.३.२ तक्ता क्र.१९ चे विश्लेषण करता सर्व जिल्हयांमध्ये न्यायालयांत सुनावणीसाठी प्रलंबित असलेल्या भादंवि खालील खटल्यांची टक्केवारी ९२.१६% पेक्षा जास्त असल्याचे दिसून येते. सुनावणीसाठी प्रलंबित खटल्यांची सर्वात जास्त टक्केवारी पुणे शहर या घटकाची (९७.०५%) आहे. त्याखालोखाल नागपूर शहर (९७.०४%), नवी मुंबई शहर (९६.९%), ठाणे शहर (९६.८७%) व सोलापूर शहर (९६.४%). सन २०१५ मध्ये राज्यात न्यायालयीन सुनावणीसाठी प्रलंबित खटल्यांची टक्केवारी ९२.१६% इतकी होती. राज्यात एकुण १५ घटकांची (जिल्हा व आयुक्तालय) राज्य सरासरी टक्केवारी (९२.१६%) पेक्षा जास्त आहे. सन २०१५ मध्ये न्यायालयाकडून भादवि अंतर्गत गुन्हयांची निर्गती व प्रलंबित खटल्याची टक्केवारी खालील आलेखात दर्शविली आहे.

4.3.2 Analysis of Table No. 19 indicates that all units have more than 92.16% of sent up IPC cases pending for trial in courts. The highest pendency was reported from Pune (C) (97.05%) followed by Nagpur (C) (97.04%), Navi Mumbai (C) (96.9%), Thane (C) (96.87%) & Solapur (C) (96.4%). The State average is 92.16% during 2015. In all 15 units have a pendency higher than that of the State average of 92.16%. The following chart gives percentage disposal & pending of IPC cases by courts during 2015.

आलेख क्र. ४.८

सन २०१५ मधील भादंवि गुन्हयांची कोर्टातून करण्यात आलेल्या निर्गती व प्रलंबित खटल्यांची टक्केवारी

CHART No. 4.8

Percentage Disposal And Pendency Of I.P.C. Cases By Courts During - 2015

Crime Head	Disposal
Murder	5.4
Rape	6.8
Kid & Abd.	5.1
Dacoity	4.6
Robbery	5.1
Burglary	3.9
Theft	4.6
Riots	5.9
Arson	5.9
Dowry Deaths	7.4
Assault on women with intent to outrage her Modesty	6.5

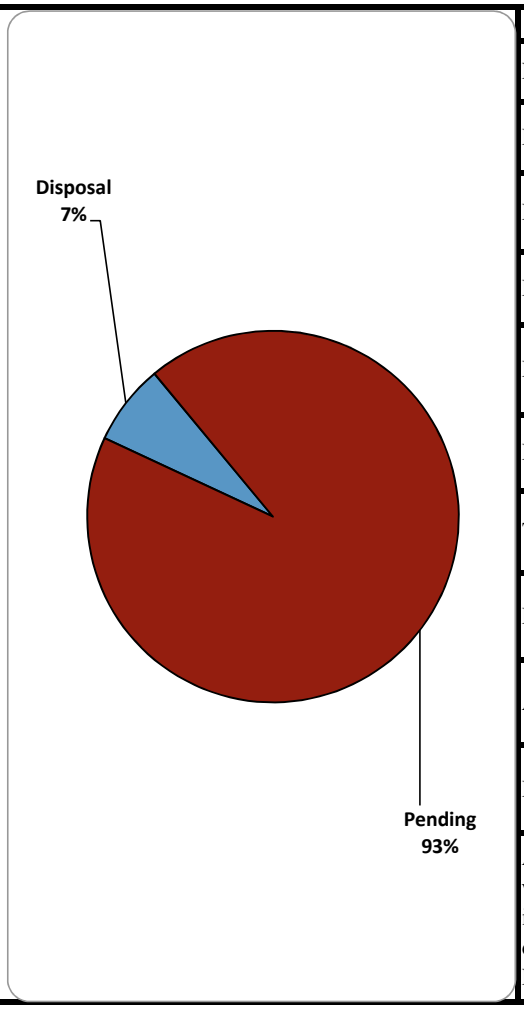

Crime Head	Pendancy
Murder	94.59
Rape	93.07
Kid & Abd.	94.57
Dacoity	95.20
Robbery	94.67
Burglary	95.92
Theft	94.60
Riots	92.98
Arson	93.17
Dowry Deaths	92.42
Assault on women with intent to outrage her Modesty	92.62

४.३.३ सुनावणीसाठी न्यायालयांत प्रलंबित असलेल्या भा.दं.वि. खालील शीर्ष-निहाय गुन्हयांची टक्केवारी तक्ता क्र. १८ मध्ये दर्शविण्यात आली आहे. भा.दं.वि. च्या सर्व गुन्हे शीर्षाखालील न्यायालयांत सुनावणीसाठी प्रलंबित असलेल्या खटल्यांची टक्केवारी ९२.२% आहे.

4.3.3 Crime head-wise details of pendency of IPC cases, for trials is shown in Table No. 18. In all 92.2% cases are pending in the court for trial at the end of year 2015.

४.३.४ गुन्हे शाबितीचे प्रमाण म्हणजे सुनावणी झालेल्या खटल्यांशी शाबीत झालेल्या खटल्यांची टक्केवारी होय. २०१५ सालात हे प्रमाण ३२.९९% इतके असून सन २०१४ मध्ये ते १९.३% होते. गुन्हयांचे शीर्षानुसार विश्लेषण पाहता अनैतिक मानवी व्यापार (१००%), अनैसर्गिक गुन्हा (५५.५६%), बलात्काराचा प्रयत्न (५०%), निष्काळजीपणे वाहन चालवणे (४६.४४%) व इतर भा.दं.वि. (४४.८३%) याप्रमाणे गुन्हे शाबितीचे प्रमाण जास्त आहे. चोरी व निष्काळजीपणे वाहन चालवणे खटल्यांमध्ये तडजोड किंवा खटला मागे घेण्याचे प्रमाण जास्त असून ते अनुक्रम ०.८४% व ०.९२% इतके आहे.

4.3.4 The ratio between cases convicted & total number of cases tried is called as conviction rate. During 2015, the conviction rate was 32.99% as compared to 19.3% in 2014. Crime head-wise analysis reveals that the conviction rate was highest in Human trafficking (100%) followed by Unnatural offences (55.56%), Attempt to commit Rape (50%), Incidences of rash driving (46.44%) & Other IPC crimes (44.83%). The highest percentage of cases, which were either compounded or withdrawn, are related to Theft and Incidence of rash driving is 0.84% & 0.92% respectively.

विशेष व स्थानिक कायद्याखालील गुन्हे

४.४.१ न्यायालयांकडून विशेष व स्थानिक कायद्याखालील खटल्याच्या झालेल्या निर्गतीबाबतची माहिती तक्ता क्र.२० मध्ये देण्यात आली आहे. सन २०१५ मध्ये एकूण १३०१४०४ खटले यामध्ये (मागील वर्षातील प्रलंबित खटल्यांसह) फौजदारी न्यायालयांत सुनावणीसाठी प्रलंबित होते. यामध्ये सन २०१४ सालातील न्यायालयांत सुनावणीसाठी प्रलंबित असलेल्या खटल्यापेक्षा३.६५% वाढ झालेली आहे. न्यायालयांत सुनावणीसाठी प्रलंबित असलेल्या खटल्याची टक्केवारी सन २०१४ मध्ये ९३% इतकी होती तर सन २०१५ मध्ये हीच टक्केवारी ९२.६% इतकी आहे. न्यायालयांत सन २०११ ते २०१५ या कालावधीत निर्गती झालेल्या खटल्यांचा तुलनात्मक आलेख खाली देण्यात आलेला आहे.

Cases under S.L.L.

4.4.1 The details of SLL crimes disposed off by the courts are shown in Table No. 20. There were as many as 1301404 cases (including those pending from previous years) awaiting disposal by criminal courts in the State during 2015. This indicates 3.65% increase as compared to 2014. The pendency of SLL cases in courts during 2015 is 92.6% as against 93% during 2014. The following Chart shows the comparative figures of the disposal of cases by courts during the 2011 to 2015.

आलेख क्र. ४.९

सन २०१२-२०१५ मधील विशेष व स्थानिक कायद्याखालील खटल्यांची कोर्टाकडून करण्यात आलेली निर्गती व प्रलंबन

Chart No. 4.9

Disposal And Pendency Percentage Of SLL Cases By Courts During 2012 - 2015

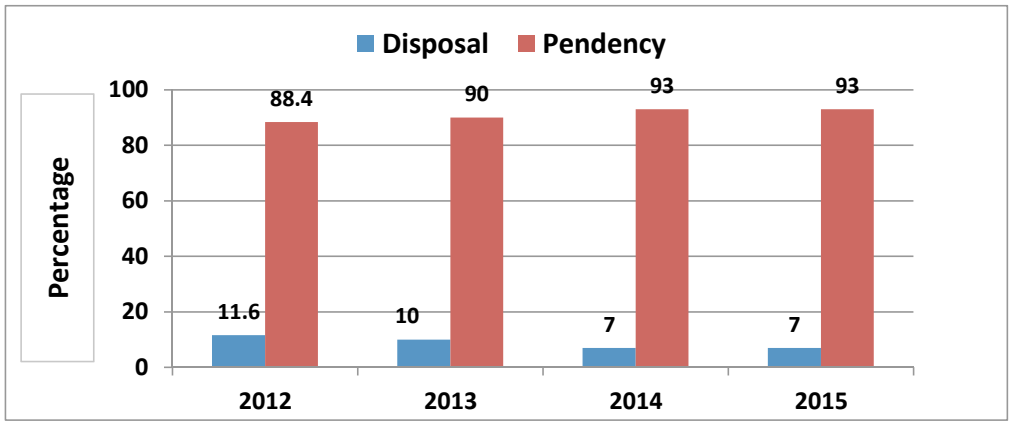

४.४.२ विशेष व स्थानिक कायद्याखालील खटल्यांची न्यायालयांकडून केलेल्या निर्गतीची घटक-निहाय माहिती तक्ता क्र.२१ मध्ये देण्यात आली आहे. राज्यात सर्वात जास्त खटले सोलापूर शहर (९९.७%) प्रलंबित आहेत. त्याखालोखाल नाशिक शहर (९९.५%), नागपूर रेल्वे (९९.१%), पुणे शहर (९८.८%), या घटकांचा क्रम आहे. सन २०१५ मध्ये न्यायालयांत सुनावणीसाठी प्रलंबित असलेल्या खटल्यांची सर्वात कमी म्हणजे (३३.६%) गडचिरोली जिल्हयांची आहे. राज्य सरासरी टक्केवारी (९२.६%) पेक्षा अधिक असलेले घटक पुढील प्रमाणे सोलापूर शहर (९९.७ %), नाशिक शहर (९९.५%), नागपूर रेल्वे (९९.१ %), पुणे शहर (९८.८%), पालघर (९८.५%), नवी मुंबई (९८.४ %), ठाणे शहर (९८%), औरंगाबाद शहर व सांगली (९७.७ %), सोलापूर ग्रामीण (९७.५%), पुणे ग्रामीण (९७.५%), ठाणे ग्रामीण व अहमदनगर (९६.९ %), लातूर (९६%), कोल्हापूर (९५.५ %), धुळे (९५.४%), यवतमाळ (९५.२%), अमरावती शहर (९५%), नाशिक ग्रामीण (९४.४ %), नांदेड (९३.९%), मुंबई रेल्वे (९३.८ %) व नागपूर ग्रामीण (९३.७%) असल्याची दिसून येते. राज्याची सरासरी टक्केवारी ९२.६% असून त्यापेक्षा अधिक टक्केवारी असलेले एकूण २२ घटक आहेत.

4.4.2 A detailed information of Unit-wise disposal of SLL crimes by various courts is given in Table No.21. Among the Units, the highest number of SLL cases pending disposal is in Solapur (C) (99.7%), followed by Nasik (C) (99.5 %), Nagpur Railway (99.1%), Pune (C) (98.8%). The lowest pendency is in Gadchiroli i.e.(33.6%). Units which have pendency percentage over State Average (92.6%) are Solapur (C) (99.7 %), Nasik (C) (99.5%), Nagpur Railway (99.1 %), Pune (C) (98.8%), Palghar (98.5%), Navi Mumbai (C) (98.4%), Thane (C) (98%), Aurangabad (C) & Sangali (97.7%), Solapur (R) (97.5 %), Pune (R) (97.5%), Ahmednagar & Thane (R) (96.9%), Latur (96%), Kolhapur (95.5%), Dhule (95.4%), Yavatmal (95.2%), Amravati (C) (95%), Nasik (R)(94.4%), Nanded (93.9%), Mumbai Railway (93.8%) & Nagpur (R) (93.7%). There are 22 units having higher pendency than that of State percentage average, i.e. 92.6%.

४.४.३ सन २०१५ मध्ये न्यायालयांकडून निर्गती झालेल्या विशेष व स्थानिक कायद्याखालील विविध गुन्हेशीर्षाच्या खटल्यांची टक्केवारी तक्ता क्र.२० मध्ये देण्यात आली आहे. काही विशेष व स्थानिक कायद्याखालील खटल्यांमध्ये अंमलीपदार्थ विरोधी कायदा (९४.३%), भारतीय पारपत्र कायदा (७९.३%), इतर स्थानिक विशेष कायदे (७२.७%) व परकीय नागरीक नोंदणी कायदा (१००%). गुन्हे शाबितीचे प्रमाण अधिक असल्याचे दिसून येते. तर दारूबंदी कायद्यामध्ये गुन्हे शाबितीचे प्रमाण (१.७%) इतके कमी आहे.

4.4.3 Disposal of various S.L.L crimes by courts during 2015 is presented in Table No. 20. Some of the following SLL Acts show better conviction rate. Narcotic Drugs & Psychotropic Substances Act, 1985 (94.3%), Passport Act, 1967 (79.3%), Other SLL Crimes (72.7%) & Registration of Foreigners Act, 1939 (100%). While conviction rate is very low in Prohibition Act cases which is (1.7%).

आलेख क्र. ४.१०

सन २०१५ मधील स्थानिक व विशेष कायद्याखालील खटल्यांची कोर्टाकडून निर्गती व प्रलंबन टक्केवारी

CHART No. 4.10

Percentage Of Disposal And Pendency Of S.L.L. Cases By Courts- 2015

Crime Head	Disposal
Arms Act	3.6
NDPS Act	29.8
Gambling Act	7.9
Proh. Act	5.5
Exp & Expl Subs	4.1
I. T (P) Act	3.7
E. C Act	5.5
Dowry (P) Act	7.3
SC/ST (Prevention of Atrocities) Act	9.7

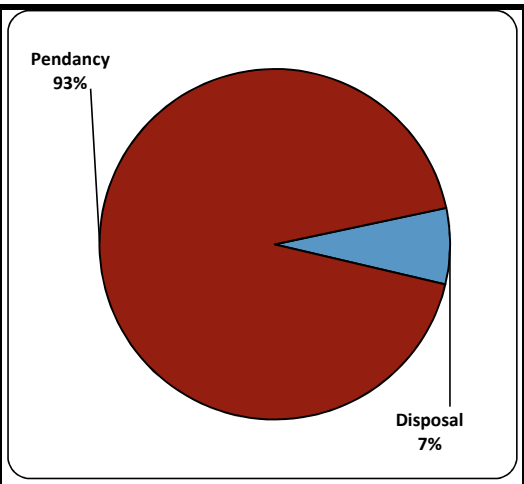

Crime Head	Pendancy
Arms Act	96.4
NDPS Act	70.2
Gambling Act	92.1
Proh. Act	94.5
Exp & Expl Subs	95.9
I. T (P) Act	96.3
E. C Act	94.5
Dowry (P) Act	92.7
SC/ST (Prevention of Atrocities) Act	90.3

४.५ कोर्टाची माहिती व सुनावणीचा कालावधी २०१४

सन २०१५ सालात कोर्टाकडून सुनावणी पूर्ण करण्यासाठी घेण्यात आलेल्या कालावधी बाबत माहिती खालील तक्त्यामध्ये दर्शविण्यात आलेली आहे.

4.5 Details of courts & Periods of Trials 2015

Details of time taken by court to complete the trial in the year 2015 is given below.

तक्ता क्र. ४.१

विविध न्यायालये आणि सुनावणीच्या कालावधीनिहाय निर्गती केलेले भा.दं.वि. खटले - २०१५

Table No. 4.1

Type of Courts & Periods of trials (IPC Cases) - 2015

Sr. No.	Type of Courts	Total Number of cases in which trials have been completed						
		Duration of Trials						
		Less Than 6 months	6 months & above-Less than 1 year	1 year & above-Less than 3 years	3 years & above-Less than 5 years	5 years & above-Less than 10 years	10 & above years	Total
[1]	[2]	[3]	[4]	[5]	[6]	[7]	[8]	[9]
1	District or Session Judge	30	213	1256	1088	535	141	3263
2	Additional Session Judge	92	267	2078	1315	685	191	4628
3	Chief Judicial Magistrate	1117	2060	3903	3421	1562	722	12785
4	Judicial Magistrate (I)	11221	10973	21782	14293	6991	2909	68169
5	Judicial Magistrate (II)	1443	2569	7183	4653	2294	1273	19415
6	Special Judicial Magistrate	36	122	365	300	190	13	1026
7	Juvenile Justice Board	70	192	348	194	120	25	949
8	Other Courts (if any)	27	54	56	56	49	14	256
9	Total (1 to 8)	**14036**	**16450**	**36971**	**25320**	**12426**	**5288**	**110491**

तक्ता क्र. १४

सन २०१५ मध्ये पोलिसांकडून भा.दं.वि. गुन्हयांची निर्गती

Table No. 14

Disposal Of Ipc Cases By Police During 2015

Sr. No.	Crime Head	Cases pending investigation from previous year	Cases reported during the year (156(3) Cr.P.C. + Police Stations)	No. of cases withdrawn by the Govt. during investigation	Cases transferred to other Police Station/ Magistrate	Total Cases for investigation (Col. 3+4 - 5 - 6)
1	2	3	4	5	6	7
1	Murder	1309	2509	0	6	3812
2	Attempt to commit Murder	1541	2683	0	1	4223
3	Culpable Homicide not amounting to Murder	130	151	0	1	280
4	Attempt to commit Culpable Homicide	9	12	0	0	21
5	Rape	1507	4144	0	12	5639
6	Attempt to commit Rape	7	13	0	0	20
7	Kidnapping & Abduction_Total	2750	8255	0	6	10999
8	Dacoity	589	784	0	1	1372
9	Making Preparation and Assembly for committing Dacoity	183	275	0	2	456
10	Robbery	5763	8561	0	2	14322
11	Criminal Trespass/Burglary_Total	11755	16581	0	0	28336
12	Theft	41579	61128	36	5	102666
13	Unlawful Assembly	576	909	0	0	1485
14	Riots	3729	8336	1	1	12063
15	Criminal Breach of Trust	3310	2042	3	20	5329
16	Cheating	13146	10490	7	36	23593
17	Forgery	1078	1011	1	13	2075
18	Counterfeiting	872	190	0	2	1060
19	Arson	612	1299	0	0	1911
20	Grievous Hurt	5187	7945	4	0	13128
21	Dowry Deaths	110	268	0	0	378
22	Assault on women with intent to outrage her Modesty	4237	11713	2	3	15945
23	Insult to the Modesty of Women	1016	1119	0	1	2134
24	Cruelty by Husband or his Relatives	3091	7640	5	3	10723
25	Importation of Girls from Foreign Country	0	0	0	0	0
26	Causing Death by Negligence	4724	13058	4	0	17778
27	Offences against State	2	1	0	0	3
28	Offences promoting enmity between different groups	61	35	0	0	96
29	Extortion	451	981	1	12	1419
30	Disclosure of Identity of Victims	0	0	0	0	0
31	Incidence of Rash Driving	9405	31161	2	0	40564
32	Human Trafficking	77	7	0	0	84
33	Unnatural Offences	42	159	0	0	201
34	Other IPC crimes	26618	71954	2	17	98553
35	**Total Cognizable IPC crimes**	**145466**	**275414**	**68**	**144**	**420668**

तक्ता क्र. १४ (चालू)

Table No. 14 (Continued)

Sr. No.	Crime Head	Cases not investigated U/S 157(1)(b) of Cr.PC	Cases ended as final report false	Cases ended as mistake of fact or of law	Cases in ended as final report as Non Cognizable Submitted during the year	Cases in which charge-sheets were submitted
1	2	8	9	10	11	12
1	Murder	0	30	33	57	2187
2	Attempt to commit Murder	1	82	18	39	2374
3	Culpable Homicide not amounting to Murder	0	0	6	4	133
4	Attempt to commit Culpable Homicide	1	0	0	0	15
5	Rape	0	41	31	14	3456
6	Attempt to commit Rape	0	1	0	0	16
7	Kidnapping & Abduction_Total	1	278	3063	76	1930
8	Dacoity	1	55	23	34	602
9	Making Preparation and Assembly for committing Dacoity	0	0	1	0	275
10	Robbery	0	124	62	106	4825
11	Criminal Trespass/Burglary_Total	0	249	85	14	5203
12	Theft	2	1012	812	64	17907
13	Unlawful Assembly	0	22	16	25	800
14	Riots	2	86	69	136	6894
15	Criminal Breach of Trust	0	44	92	13	1291
16	Cheating	0	229	404	89	5138
17	Forgery	0	5	14	0	464
18	Counterfeiting	0	0	3	0	73
19	Arson	0	33	29	6	769
20	Grievous Hurt	0	37	22	32	7225
21	Dowry Deaths	0	3	3	1	252
22	Assault on women with intent to outrage her Modesty	0	172	85	89	9243
23	Insult to the Modesty of Women	0	5	5	8	1008
24	Cruelty by Husband or his Relatives	1	19	86	34	6622
25	Importation of Girls from Foreign Country	0	0	0	0	0
26	Causing Death by Negligence	0	36	27	824	8082
27	Offences against State	0	0	0	0	1
28	Offences promoting enmity between different groups	0	1	0	0	50
29	Extortion	0	16	13	11	656
30	Disclosure of Identity of Victims	0	0	0	0	0
31	Incidence of Rash Driving	0	34	43	66	25413
32	Human Trafficking	0	1	1	0	30
33	Unnatural Offences	0	1	2	0	95
34	Other IPC crimes	1	504	429	448	61463
35	**Total Cognizable IPC crimes**	**10**	**3120**	**5477**	**2190**	**174492**

तक्ता क्र. १४ (पुर्ण)

Table No. 14 (Concluded)

Sr. No.	Crime Head	Cases in which chargesheets were not laid but final report as True submitted	Total cases Disposed off by police (Col. 8+ 9+10+11+12+13)	Cases pending investigation at the end of the year	Cases Chargesheet Rate {Col.12+13 /(3+4)} x 100	Cases Pendency Rate {Col.15/ (3+4)} x 100
1	2	13	14	15	16	17
1	Murder	**236**	2543	1269	63.5	33.2
2	Attempt to commit Murder	37	2551	1672	57.1	39.6
3	Culpable Homicide not amounting to Murder	8	151	129	50.2	45.9
4	Attempt to commit Culpable Homicide	0	16	5	71.4	23.8
5	Rape	33	3575	2064	61.7	36.5
6	Attempt to commit Rape	1	18	2	85.0	10.0
7	Kidnapping & Abduction_Total	697	6045	4954	23.9	45.0
8	Dacoity	94	809	563	50.7	41.0
9	Making Preparation and Assembly for committing Dacoity	0	276	180	60.0	39.3
10	Robbery	3659	8776	5546	59.2	38.7
11	Criminal Trespass/Burglary_Total	10615	16166	12170	55.8	42.9
12	Theft	37219	57016	45650	53.7	44.4
13	Unlawful Assembly	38	901	584	56.4	39.3
14	Riots	144	7331	4732	58.3	39.2
15	Criminal Breach of Trust	293	1733	3596	29.6	67.2
16	Cheating	3087	8947	14646	34.8	62.0
17	Forgery	87	570	1505	26.4	72.0
18	Counterfeiting	102	178	882	16.5	83.1
19	Arson	344	1181	730	58.2	38.2
20	Grievous Hurt	274	7590	5538	57.1	42.2
21	Dowry Deaths	1	260	118	66.9	31.2
22	Assault on women with intent to outrage her Modesty	189	9778	6167	59.1	38.7
23	Insult to the Modesty of Women	72	1098	1036	50.6	48.5
24	Cruelty by Husband or his Relatives	31	6793	3930	62.0	36.6
25	Importation of Girls from Foreign Country	0	0	0	-	-
26	Causing Death by Negligence	3259	12228	5550	63.8	31.2
27	Offences against State	1	2	1	66.7	33.3
28	Offences promoting enmity between different groups	6	57	39	58.3	40.6
29	Extortion	45	741	678	49.0	47.3
30	Disclosure of Identity of Victims	0	0	0	-	-
31	Incidence of Rash Driving	2641	28197	12367	69.2	30.5
32	Human Trafficking	0	32	52	35.7	61.9
33	Unnatural Offences	1	99	102	47.8	50.7
34	Other IPC crimes	3326	66171	32382	65.7	32.9
35	**Total Cognizable IPC crimes**	**66540**	**251829**	**168839**	**57.3**	**40.1**

Note: Sum of Column 16 and 17 is not 100 due to the reason of other disposals shown in Columns 5,6,8,9,10 and 11

तक्ता क्र. १५

सन २०१५ मध्ये पोलिसांकडून भा.दं.वि. गुन्हयांची निर्गती (घटक-निहाय)

Table No.15

Disposal Of IPC Cases By Police During 2015 (Unit-Wise)

Sr. No.	Unit	Cases pending investigation from previous year	Cases reported during the year (156(3) Cr.P.C. + Police Stations)	No. of cases withdrawn by the Govt. during investigation	Cases transferred to other Police Station/ Magistrate	Total Cases for investigation (Col. 3+4 - 5 - 6)	Cases not investigated U/S 157(1)(b) of Cr.PC	Cases ended as final report false	Cases ended as mistake of fact or of law
1	2	3	4	5	6	7	8	9	10
1	Akola	1777	4423	0	1	6199	0	120	0
2	Amravati Rural	2161	7380	0	0	9541	0	84	129
3	Buldhana	1057	4959	0	0	6016	0	44	53
4	Yavatmal	4039	8148	0	0	12187	0	289	210
5	Washim	907	2759	0	0	3666	0	49	39
*	**Amravati Range**	**9941**	**27669**	**0**	**1**	**37609**	**0**	**586**	**431**
6	Aurangabad Rural	881	5168	0	0	6049	0	55	66
7	Jalna	1370	3646	0	0	5016	0	29	47
8	Beed	1486	5480	0	0	6966	4	67	81
9	Osmanabad	1079	3316	0	3	4392	0	63	91
*	**Aurangabad Range**	**4816**	**17610**	**0**	**3**	**22423**	**4**	**214**	**285**
10	Nanded	1023	5654	0	0	6677	0	67	137
11	Latur	892	4616	0	0	5508	0	679	125
12	Parbhani	1101	4083	0	0	5184	0	87	81
13	Hingoli	549	1941	0	2	2488	0	35	29
*	**Nanded Range**	**3565**	**16294**	**0**	**2**	**19857**	**0**	**868**	**372**
14	Kolhapur	1985	6109	0	1	8093	0	32	147
15	Pune Rural	8305	11803	0	0	20108	0	71	130
16	Sangli	1588	6317	0	3	7902	0	22	75
17	Satara	2216	6640	0	0	8856	0	57	157
18	Solapur Rural	2840	7284	0	1	10123	0	18	110
*	**Kolhapur Range**	**16934**	**38153**	**0**	**5**	**55082**	**0**	**200**	**619**
19	Bhandara	513	2016	0	0	2529	0	16	77
20	Chandrapur	1439	4414	0	0	5853	0	19	84
21	Nagpur Rural	1318	4467	0	1	5784	0	9	31
22	Wardha	1444	4059	0	0	5503	0	39	38
*	**Nagpur Range**	**4714**	**14956**	**0**	**1**	**19669**	**0**	**83**	**230**
23	Gadchiroli	881	1499	0	0	2380	0	7	7
24	Gondia	488	1882	0	0	2370	0	7	45
*	**Gadchiroli Range**	**1369**	**3381**	**0**	**0**	**4750**	**0**	**14**	**52**
25	Ahmednagar	3395	8018	0	0	11413	0	53	198
26	Dhule	1147	2738	0	0	3885	0	32	27
27	Jalgaon	1356	6609	0	0	7965	0	86	128
28	Nasik Rural	1661	7232	0	1	8892	2	77	36
29	Nandurbar	512	1388	0	0	1900	0	19	42
*	**Nasik Range**	**8071**	**25985**	**0**	**1**	**34055**	**2**	**267**	**431**
30	Raigad	1484	3127	5	0	4606	0	23	101
31	Ratnagiri	566	2188	0	0	2754	0	10	38
32	Sindhudurg	359	838	0	2	1195	0	15	18
33	Thane Rural	2020	4007	1	0	6026	0	0	0
34	Palghar	2794	5343	0	0	8137	0	43	343
*	**Thane Range**	**7223**	**15503**	**6**	**2**	**22718**	**0**	**91**	**500**
35	Mumbai Railway	953	4234	0	0	5187	0	5	43
36	Pune Railway	436	780	0	0	1216	0	11	0
37	Nagpur Railway	660	2263	0	0	2923	0	18	0
*	**Railway Range**	**2049**	**7277**	**0**	**0**	**9326**	**0**	**34**	**43**
38	Nagpur Commr.	4582	11018	0	0	15600	0	54	311
39	Pune Commr.	6103	15349	2	2	21448	0	370	644
40	Thane Commr.	7082	15204	9	9	22268	0	151	426
41	Mumbai Commr.	61801	42940	48	114	104579	0	82	489
42	Nasik Commr.	1429	3963	0	2	5390	0	9	124
43	Aurangabad Commr.	1632	7051	0	1	8682	4	48	161
44	Solapur Commr.	917	2583	0	0	3500	0	6	26
45	Navi Mumbai	2107	5990	3	0	8094	0	23	233
46	Amravati Commr.	1131	4488	0	1	5618	0	20	100
*	**Total Commrs.**	**86784**	**108586**	**62**	**129**	**195179**	**4**	**763**	**2514**
*	**Total of M.S**	**145466**	**275414**	**68**	**144**	**420668**	**10**	**3120**	**5477**

तक्ता क्र. १५ (पुर्ण)

Table No. 15 (Concluded)

Sr. No.	Unit	Cases in ended as final report as Non Cognizable Submitted during the year	Cases in which charge-sheets were submitted	Cases in which charge-sheets were not laid but final report as True submitted during the year	Total cases Disposed off by police (Col. 8+ 9+10+11+12+13)	Cases pending investigation at the end of the year	Charge-sheeting Rate (Col.12+13)/(Col.3+4)*100	Cases Pendency Rate {Col.15/ (3+4)} x 100
1	2	11	12	13	14	15	16	17
1	Akola	25	3757	816	4718	1481	73.76	23.89
2	Amravati Rural	101	5549	1199	7062	2479	70.73	25.98
3	Buldhana	67	3856	599	4619	1397	74.05	23.22
4	Yavatmal	130	6498	1886	9013	3174	68.79	26.04
5	Washim	37	1852	566	2543	1123	65.96	30.63
*	**Amravati Range**	**360**	**21512**	**5066**	**27955**	**9654**	**70.67**	**25.67**
6	Aurangabad Rural	49	3662	749	4581	1468	72.92	24.27
7	Jalna	28	3075	358	3537	1479	68.44	29.49
8	Beed	32	3210	803	4197	2769	57.61	39.75
9	Osmanabad	25	2351	645	3175	1217	68.17	27.69
*	**Aurangabad Range**	**134**	**12298**	**2555**	**15490**	**6933**	**66.23**	**30.92**
10	Nanded	53	4064	595	4916	1761	69.78	26.37
11	Latur	144	2801	0	3749	1759	50.85	31.94
12	Parbhani	61	3082	548	3859	1325	70.02	25.56
13	Hingoli	25	1512	159	1760	728	67.11	29.24
*	**Nanded Range**	**283**	**11459**	**1302**	**14284**	**5573**	**64.26**	**28.06**
14	Kolhapur	88	4395	1122	5784	2309	68.16	28.53
15	Pune Rural	176	8375	4607	13359	6749	64.56	33.56
16	Sangli	89	5008	578	5772	2130	70.66	26.94
17	Satara	51	4525	1896	6686	2170	72.50	24.50
18	Solapur Rural	24	5769	1077	6998	3125	67.62	30.87
*	**Kolhapur Range**	**428**	**28072**	**9280**	**38599**	**16483**	**67.81**	**29.92**
19	Bhandara	5	1393	430	1921	608	72.08	24.04
20	Chandrapur	55	3523	677	4358	1495	71.76	25.54
21	Nagpur Rural	3	3194	876	4113	1671	70.35	28.89
22	Wardha	32	2786	778	3673	1830	64.76	33.25
*	**Nagpur Range**	**95**	**10896**	**2761**	**14065**	**5604**	**69.43**	**28.49**
23	Gadchiroli	1	972	215	1202	1178	49.87	49.50
24	Gondia	27	1407	307	1793	577	72.32	24.35
*	**Gadchiroli Range**	**28**	**2379**	**522**	**2995**	**1755**	**61.07**	**36.95**
25	Ahmednagar	236	5456	2346	8289	3124	68.36	27.37
26	Dhule	13	1953	481	2506	1379	62.65	35.50
27	Jalgaon	134	5364	905	6617	1348	78.71	16.92
28	Nasik Rural	37	4200	1070	5422	3470	59.26	39.02
29	Nandurbar	36	994	262	1353	547	66.11	28.79
*	**Nasik Range**	**456**	**17967**	**5064**	**24187**	**9868**	**67.63**	**28.98**
30	Raigad	26	1842	849	2841	1765	58.36	38.28
31	Ratnagiri	5	1546	514	2113	641	74.80	23.28
32	Sindhudurg	31	715	176	0	1195	74.44	99.83
33	Thane Rural	0	2077	1002	3079	2947	51.09	48.90
34	Palghar	35	2847	2246	5514	2623	62.59	32.24
*	**Thane Range**	**97**	**9027**	**4787**	**13547**	**9171**	**60.79**	**40.35**
35	Mumbai Railway	1	2449	1960	4458	729	85.00	14.05
36	Pune Railway	0	289	398	698	518	56.50	42.60
37	Nagpur Railway	0	527	1476	2021	902	68.53	30.86
*	**Railway Range**	**1**	**3265**	**3834**	**7177**	**2149**	**76.12**	**23.04**
38	Nagpur Commr.	32	6225	3733	10355	5245	63.83	33.62
39	Pune Commr.	56	7320	5067	13457	7991	57.74	37.25
40	Thane Commr.	44	6889	4321	11831	10437	50.30	46.83
41	Mumbai Commr.	14	24620	11912	37117	67462	34.88	64.41
42	Nasik Commr.	29	2049	1336	3547	1843	62.78	34.18
43	Aurangabad Commr.	37	3012	1417	4675	4007	51.01	46.15
44	Solapur Commr.	8	1055	767	1862	1638	52.06	46.80
45	Navi Mumbai	62	4018	1898	6234	1860	73.06	22.97
46	Amravati Commr.	26	2429	918	3493	2125	59.57	37.82
*	**Total Commrs.**	**308**	**57617**	**31369**	**92575**	**102604**	**45.55**	**52.52**
*	**Total of M.S**	**2190**	**174492**	**66540**	**251829**	**168839**	**57.27**	**40.1**

Note: Sum of Column 16 and 17 doesn't come 100 due to the reason of other disposals shown in Columns 5,6,8,9,10 and 11

तक्ता क्र. १६

सन २०१५ मध्ये विशेष व स्थानिक कायद्यांतर्गत गुन्हयांची पोलीसांकडून निर्गती

Table No. 16

Disposal Of SLL Crime Cases By Police During 2015

Sr. No.	Crime Head	Cases pending investigation from previous year	Cases reported during the year (156(3) Cr.P.C. + Police Stations)	No of cases withdrawn by the Govt during investigation	Cases transferred to other Police Station or Magistrate
1	2	3	4	5	6
1	Arms Act, 1959	1534	1253	0	13
2	Narcotic Drugs & Psychotropic Substances Act, 1985	5055	18979	0	0
3	Gambling Act, 1867	5724	20171	0	0
4	Excise Act, 1944	0	0	0	0
5	Prohibition Act	33146	65128	0	0
6	Explosives and Explosive Substances Act	47	88	0	0
7	Immoral Traffic (Prevention) Act, 1956	737	400	0	0
8	Indian Railways Act, 1989	22	30	0	1
9	Registration of Foreigners Act, 1939	12	1	0	0
10	Protection of Civil Rights Act, 1955	7	20	0	0
10.1	PCR Act for crimes committed against SCs	7	9	0	0
10.2	PCR Act for crimes committed against STs	0	1	0	0
10.3	PCR Act for crimes committed against Others	0	10	0	0
11	Passport Act, 1967	30	56	0	0
12	Essential Commodities Act, 1955	727	722	0	2
13	Antiquities & Art Treasures Act, 1972	1	1	0	0
14	Dowry Prohibition Act, 1961	14	42	0	0
15	Indecent Representation of Women (Prohibition) Act, 1986	0	0	0	0
16	Copyright Act, 1957	319	371	1	1
17	Protection of Child from Sexual Offecnces	54	26	0	0
18	SC/ST (Prevention of Atrocities) Act, 1989)	163	340	0	1
18.1	POA Act for crimes committed against SCs	143	290	0	1
18.2	POA Act for crimes committed against STs	20	50	0	0
19	Forest Act, 1927	13	18	0	0
20	Prohibition of Child Marriage Act, 2006	10	24	0	0
21	Protection of Women from Domestic Violence Act, 2005	4	8	0	0
22	Information Technology Act, 2000	439	348	0	0
23	Official Secrets Act, 1923	0	0	0	0
24	Electricity Act, 2003	622	996	0	2
25	Wildlife Protection Act, 1972	44	20	0	0
26	Bonded Labour System (Abolition) Act, 1976	2	5	0	0
27	Environmental (Protection) Act, 1986	56	46	0	1

तक्ता क्र. १६ (चालू)

Table No. 16 (Continued)

Sr. No.	Crime Head	Cases pending investigation from previous year	Cases reported during the year (156(3) Cr.P.C. + Police Stations)	No of cases withdrawn by the Govt during investigation	Cases transferred to other Police Station or Magistrate
1	2	3	4	5	6
28	Air (Prevention & Control of Pollution) Act, 1981	8	42	0	0
29	Water (Prevention & Control of Pollution) Act, 1974(as amended in 1988)	1	1	0	0
30	National Security Act, 1980	0	1	0	0
31	Unlawful Activities (Prevention) Act, 1967	1	1	0	0
32	Young Persons (Harmful Publications) Act, 1956	0	0	0	0
33	Railway Property (Unlawful Possession) Act, 1966	0	0	0	0
34	Prevention of Damage to Public Property Act, 1984	122	159	0	0
35	Transplantation of Human Organs Act, 1994	0	0	0	0
36	Trade Marks Act, 1999	2	3	0	0
37	Prevention of Insults to National Honour Act, 1971	6	11	0	0
38	State Emblem (Prohibition of Improper Use) Act, 2005	0	1	0	0
39	Lotteries (Regulation) Act, 1998	33	17	0	0
40	Citizenship Act, 1955	0	0	0	0
41	Foreigners Act, 1946	5	18	0	0
42	Place of Worship (Special Provisions) Act, 1991	0	0	0	0
43	Religious Institution (Prevention of Misuse) Act, 1988	0	0	0	0
44	Representation of People Act, 1951	25	20	0	0
45	Emigration Act, 1983	0	0	0	0
46	Juvenile Justice (Care and Protection of Children) Act, 2000	27	251	0	0
47	Infant Substitutes Regulation Act, 2003	0	0	0	0
48	Anti-Hijacking Act, 1982	0	0	0	0
49	Atomic Energy Act, 1962	0	0	0	0
50	Weapons of Mass Destruction (Proh. of Unlawful Activities) Act, 2005	0	0	0	0
51	Suppression of Unlawful Acts against Safety of Civil Aviation Act, 1982	0	0	0	0
52	Safety of Maritime Navigation Act, 2002	0	0	0	0
53	Manual Scavengers and Construction of Dry Latrines (P) Act, 1993	0	0	0	0
54	Pre-Natal Diagnostic Techniques (Reg and Prev of Misuse) Act, 1994	1	0	0	0
55	The Maritime Zones of India (Reg of Fishing by Foreign Vessels) Act, 1981	0	0	0	0
56	Other SLL crimes	11063	38148	0	15
57	**Total Cognizable SLL crimes**	**60076**	**147766**	**1**	**36**

तक्ता क्र. १६ (चालू)

Table No. 16 (Continued)

Sr. No.	Crime Head	Total Cases for investigation (Col. 3+4 - 5 - 6)	Cases not investigated U/S 157(1)(b) of Cr.PC	Cases ended as final report false	Cases ended as mistake of fact or of law	Cases in ended as final report as Non Cognizable Submitted
1	2	7	8	9	10	11
1	Arms Act, 1959	2774	0	1	1	3
2	Narcotic Drugs & Psychotropic Substances Act, 1985	24034	0	0	1	0
3	Gambling Act, 1867	25895	0	1	0	1
4	Excise Act, 1944	0	0	0	0	0
5	Prohibition Act	98274	25	3	5	32
6	Explosives and Explosive Substances Act	135	0	0	0	1
7	Immoral Traffic (Prevention) Act, 1956	1137	0	0	0	0
8	Indian Railways Act, 1989	51	0	0	0	0
9	Registration of Foreigners Act, 1939	13	0	0	0	0
10	Protection of Civil Rights Act, 1955	27	0	0	0	1
10.1	PCR Act for crimes committed against SCs	16	0	0	0	1
10.2	PCR Act for crimes committed against STs	1	0	0	0	0
10.3	PCR Act for crimes committed against Others	10	0	0	0	0
11	Passport Act, 1967	86	0	0	0	0
12	Essential Commodities Act, 1955	1447	0	2	6	1
13	Antiquities & Art Treasures Act, 1972	2	0	0	0	0
14	Dowry Prohibition Act, 1961	56	0	1	1	0
15	Indecent Representation of Women (Prohibition) Act, 1986	0	0	0	0	0
16	Copyright Act, 1957	688	1	0	3	0
17	Protection of Child from Sexual Offences	80	0	0	0	0
18	SC/ST (Prevention of Atrocities) Act, 1989)	502	0	46	10	27
18.1	POA Act for crimes committed against SCs	432	0	42	9	23
18.2	POA Act for crimes committed against STs	70	0	4	1	4
19	Forest Act, 1927	31	0	0	0	0
20	Prohibition of Child Marriage Act, 2006	34	0	1	0	0
21	Protection of Women from Domestic Violence Act, 2005	12	0	0	0	0
22	Information Technology Act, 2000	787	0	4	10	17
23	Official Secrets Act, 1923	0	0	0	0	0
24	Electricity Act, 2003	1616	0	27	10	3
25	Wildlife Protection Act, 1972	64	0	0	0	0
26	Bonded Labour System (Abolition) Act, 1976	7	0	0	0	0
27	Environmental (Protection) Act, 1986	101	0	0	1	0

तक्ता क्र. १६ (चालू)

Table No. 16 (Continued)

Sr. No.	Crime Head	Total Cases for investigation (Col. 3+4 - 5 - 6)	Cases not investigated U/S 157(1)(b) of Cr.PC	Cases ended as final report false	Cases ended as mistake of fact or of law	Cases in ended as final report as Non Cognizable Submitted
1	2	7	8	9	10	11
28	Air (Prevention & Control of Pollution) Act, 1981	50	0	0	0	0
29	Water (Prevention & Control of Pollution) Act, 1974(as amended in 1988)	2	0	0	0	0
30	National Security Act, 1980	1	0	0	0	0
31	Unlawful Activities (Prevention) Act, 1967	2	0	0	0	0
32	Young Persons (Harmful Publications) Act, 1956	0	0	0	0	0
33	Railway Property (Unlawful Possession) Act, 1966	0	0	0	0	0
34	Prevention of Damage to Public Property Act, 1984	281	0	0	0	0
35	Transplantation of Human Organs Act, 1994	0	0	0	0	0
36	Trade Marks Act, 1999	5	0	0	0	0
37	Prevention of Insults to National Honour Act, 1971	17	0	0	0	0
38	State Emblem (Prohibition of Improper Use) Act, 2005	1	0	0	0	0
39	Lotteries (Regulation) Act, 1998	50	0	0	0	0
40	Citizenship Act, 1955	0	0	0	0	0
41	Foreigners Act, 1946	23	0	0	0	0
42	Place of Worship (Special Provisions) Act, 1991	0	0	0	0	0
43	Religious Institution (Prevention of Misuse) Act, 1988	0	0	0	0	0
44	Representation of People Act, 1951	45	0	0	5	0
45	Emigration Act, 1983	0	0	0	0	0
46	Juvenile Justice (Care and Protection of Children) Act, 2000	278	0	1	1	0
47	Infant Substitutes Regulation Act, 2003	0	0	0	0	0
48	Anti-Hijacking Act, 1982	0	0	0	0	0
49	Atomic Energy Act, 1962	0	0	0	0	0
50	Weapons of Mass Destruction (Proh. of Unlawful Activities) Act, 2005	0	0	0	0	0
51	Suppression of Unlawful Acts against Safety of Civil Aviation Act, 1982	0	0	0	0	0
52	Safety of Maritime Navigation Act, 2002	0	0	0	0	0
53	Manual Scavengers and Construction of Dry Latrines (P) Act, 1993	0	0	0	0	0
54	Pre-Natal Diagnostic Techniques (Reg and Prev of Misuse) Act, 1994	1	0	0	0	0
55	The Maritime Zones of India (Reg of Fishing by Foreign Vessels) Act, 1981	0	0	0	0	0
56	Other SLL crimes	49196	0	44	77	33
57	**Total Cognizable SLL crimes**	**207805**	**26**	**131**	**131**	**119**

तक्ता क्र. १६ (चालू)

Table No. 16 (Continued)

Sr No.	Crime Head	Cases in which charge-sheets were submitted	Cases in which charge-sheets were not laid but final report as True submitted during the year	Total cases Disposed off by police (Col. 8+ 9+10+ 11+12+13)	Cases pending investigation at the end of the year	Cases Chargesheet Rate {Col.12+13 /Col.(3+4)} x 100	Cases Pendency Rate {Col.15/ (3+4)} x 100
1	2	12	13	14	15	16	17
1	Arms Act, 1959	1137	4	1146	1628	40.9	58.4
2	Narcotic Drugs & Psychotropic Substances Act, 1985	18683	23	18707	5327	77.8	22.2
3	Gambling Act, 1867	18356	7	18365	7530	70.9	29.1
4	Excise Act, 1944	0	0	0	0	-	-
5	Prohibition Act	57866	127	58058	40216	59.0	40.9
6	Explosives and Explosive Substances Act	36	5	42	93	30.4	68.9
7	Immoral Traffic (Prevention) Act, 1956	324	3	327	810	28.8	71.2
8	Indian Railways Act, 1989	11	26	37	14	71.2	26.9
9	Registration of Foreigners Act, 1939	0	0	0	13	0.0	100.0
10	Protection of Civil Rights Act, 1955	5	0	6	21	18.5	77.8
10.1	PCR Act for crimes committed against SCs	5	0	6	10	31.3	62.5
10.2	PCR Act for crimes committed against STs	0	0	0	1	0.0	100.0
10.3	PCR Act for crimes committed against Others	0	0	0	10	0.0	100.0
11	Passport Act, 1967	55	0	55	31	64.0	36.0
12	Essential Commodities Act, 1955	689	19	717	730	48.9	50.4
13	Antiquities & Art Treasures Act, 1972	2	0	2	0	100.0	0.0
14	Dowry Prohibition Act, 1961	46	0	48	8	82.1	14.3
15	Indecent Representation of Women (Prohibition) Act, 1986	0	0	0	0	-	-
16	Copyright Act, 1957	292	5	301	387	43.0	56.1
17	Protection of Child from Sexual Offences	47	0	47	33	58.8	41.3
18	SC/ST (Prevention of Atrocities) Act, 1989)	226	3	312	190	45.5	37.8
18.1	POA Act for crimes committed against SCs	192	3	269	163	45.0	37.6
18.2	POA Act for crimes committed against STs	34	0	43	27	48.6	38.6
19	Forest Act, 1927	19	2	21	10	67.7	32.3
20	Prohibition of Child Marriage Act, 2006	25	0	26	8	73.5	23.5
21	Protection of Women from Domestic Violence Act, 2005	4	0	4	8	33.3	66.7
22	Information Technology Act, 2000	115	156	302	485	34.4	61.6
23	Official Secrets Act, 1923	0	0	0	0	-	-
24	Electricity Act, 2003	185	670	895	721	52.8	44.6
25	Wildlife Protection Act, 1972	37	3	40	24	62.5	37.5
26	Bonded Labour System (Abolition) Act, 1976	3	0	3	4	42.9	57.1
27	Environmental (Protection) Act, 1986	40	7	48	53	46.1	52.0

तक्ता क्र. १६ (पुर्ण)

Table No. 16 (Concluded)

Sr No.	Crime Head	Cases in which charge-sheets were submitted	Cases in which charge-sheets were not laid but final report as True submitted during the year	Total cases Disposed off by police (Col. 8+ 9+10+11+12+ 13)	Cases pending investigation at the end of the year	Cases Chargesheet Rate {Col.12+13 /Col.(3+4)} x 100	Cases Pendency Rate {Col.15/ (3+4)} x 100
1	2	12	13	14	15	16	17
28	Air (Prevention & Control of Pollution) Act, 1981	16	0	16	34	32.0	68.0
29	Water (Prevention & Control of Pollution) Act, 1974(as amended in 1988)	1	0	1	1	50.0	50.0
30	National Security Act, 1980	1	0	1	0	100.0	0.0
31	Unlawful Activities (Prevention) Act, 1967	0	1	1	1	50.0	50.0
32	Young Persons (Harmful Publications) Act, 1956	0	0	0	0	-	-
33	Railway Property (Unlawful Possession) Act, 1966	0	0	0	0	-	-
34	Prevention of Damage to Public Property Act, 1984	117	52	169	112	60.1	39.9
35	Transplantation of Human Organs Act, 1994	0	0	0	0	-	-
36	Trade Marks Act, 1999	3	0	3	2	60.0	40.0
37	Prevention of Insults to National Honour Act, 1971	9	0	9	8	52.9	47.1
38	State Emblem (Prohibition of Improper Use) Act, 2005	0	0	0	1	0.0	100.0
39	Lotteries (Regulation) Act, 1998	15	0	15	35	30.0	70.0
40	Citizenship Act, 1955	0	0	0	0	-	-
41	Foreigners Act, 1946	15	0	15	8	65.2	34.8
42	Place of Worship (Special Provisions) Act, 1991	0	0	0	0	-	-
43	Religious Institution (Prevention of Misuse) Act, 1988	0	0	0	0	-	-
44	Representation of People Act, 1951	28	1	34	11	64.4	24.4
45	Emigration Act, 1983	0	0	0	0	-	-
46	Juvenile Justice (Care and Protection of Children) Act, 2000	89	2	93	185	32.7	66.5
47	Infant Substitutes Regulation Act, 2003	0	0	0	0	-	-
48	Anti-Hijacking Act, 1982	0	0	0	0	-	-
49	Atomic Energy Act, 1962	0	0	0	0	-	-
50	Weapons of Mass Destruction (Proh. of Unlawful Activities) Act, 2005	0	0	0	0	-	-
51	Suppression of Unlawful Acts against Safety of Civil Aviation Act, 1982	0	0	0	0	-	-
52	Safety of Maritime Navigation Act, 2002	0	0	0	0	-	-
53	Manual Scavengers and Construction of Dry Latrines (P) Act, 1993	0	0	0	0	-	-
54	Pre-Natal Diagnostic Techniques (Reg and Prev of Misuse) Act, 1994	1	0	1	0	100.0	0.0
55	The Maritime Zones of India (Reg of Fishing by Foreign Vessels) Act, 1981	0	0	0	0	-	-
56	Other SLL crimes	35540	505	36199	12997	73.2	26.4
57	**Total Cognizable SLL crimes**	**134038**	**1621**	**136066**	**71739**	**65.3**	**34.5**

Note: Sum of Column 16 and 17 doesn't come 100 due to the reason of other disposals shown in Columns 5,6,8,9,10 and 11

तक्त क्र. १७

सन २०१५ मध्ये पोलिसांकडून विशेष व स्थानिक कायद्यांतर्गत गुन्हयांची निर्गती - घटक निहाय

Table No. 17

Disposal Of SLL Cases By Police During 2015 (Unit-Wise)

Sr.No.	Unit	Cases pending investigation from previous year	Cases reported during the year (156(3) Cr.P.C. + Police Stations)	No. of cases withdrawn by the Govt. during investigation	Cases transferred to other Police Station/ Magistrate	Total Cases for investigation (Col. 3+4 - 5 - 6)	Cases not investigated U/S 157(1)(b) of Cr.PC	Cases ended as final report false	Cases ended as mistake of fact or of law
1	2	3	4	5	6	7	8	9	10
1	Akola	425	2662	0	0	3087	0	1	0
2	Amravati Rural	576	4924	0	0	5500	21	7	2
3	Buldhana	528	4524	0	0	5052	0	1	4
4	Yavatmal	1439	5884	0	0	7323	1	33	17
5	Washim	261	2024	0	0	2285	0	0	0
*	**Amravati Range**	**3229**	**20018**	**0**	**0**	**23247**	**22**	**42**	**23**
6	Aurangabad Rural	185	1728	0	0	1913	0	4	1
7	Jalna	266	1801	0	0	2067	0	0	0
8	Beed	495	2767	0	0	3262	0	3	3
9	Osmanabad	273	1206	0	0	1479	0	2	2
*	**Aurangabad Range**	**1219**	**7502**	**0**	**0**	**8721**	**0**	**9**	**6**
10	Nanded	242	2353	0	0	2595	0	4	3
11	Latur	301	1764	0	0	2065	0	19	1
12	Parbhani	225	1566	0	0	1791	0	11	6
13	Hingoli	153	804	0	0	957	0	0	0
*	**Nanded Range**	**921**	**6487**	**0**	**0**	**7408**	**0**	**34**	**10**
14	Kolhapur	393	1586	0	0	1979	0	1	2
15	Pune Rural	1720	2882	0	0	4602	0	0	0
16	Sangli	529	1640	0	9	2160	0	2	2
17	Satara	298	2135	0	0	2433	0	1	3
18	Solapur Rural	1047	4788	0	3	5832	0	1	5
*	**Kolhapur Range**	**3987**	**13031**	**0**	**12**	**17006**	**0**	**5**	**12**
19	Bhandara	492	2300	0	0	2792	0	0	0
20	Chandrapur	421	7208	0	0	7629	0	0	2
21	Nagpur Rural	701	4013	0	0	4714	0	0	2
22	Wardha	2836	10926	0	0	13762	0	0	3
*	**Nagpur Range**	**4450**	**24447**	**0**	**0**	**28897**	**0**	**0**	**7**
23	Gadchiroli	736	1813	0	0	2549	0	2	0
24	Gondia	181	2497	0	0	2678	0	0	0
*	**Gadchiroli Range**	**917**	**4310**	**0**	**0**	**5227**	**0**	**2**	**0**
25	Ahmednagar	951	3892	0	0	4843	0	2	0
26	Dhule	370	1144	0	0	1514	0	0	3
27	Jalgaon	299	3270	0	0	3569	0	5	6
28	Nasik Rural	235	2184	0	0	2419	0	1	7
29	Nandurbar	172	1007	0	0	1179	0	0	1
*	**Nasik Range**	**2027**	**11497**	**0**	**0**	**13524**	**0**	**8**	**17**
30	Raigad	326	659	0	1	984	0	0	7
31	Ratnagiri	79	430	0	0	509	0	1	1
32	Sindhudurg	101	281	0	1	381	3	1	0
33	Thane Rural	405	749	0	0	1154	0	0	0
34	Palghar	381	613	0	0	994	0	4	12
*	**Thane Range**	**1292**	**2732**	**0**	**2**	**4022**	**3**	**6**	**20**
35	Mumbai Railway	21	99	0	0	120	0	0	0
36	Pune Railway	20	52	0	0	72	0	0	0
37	Nagpur Railway	14	128	0	0	142	0	1	0
*	**Railway Range**	**55**	**279**	**0**	**0**	**334**	**0**	**1**	**0**
38	Nagpur Commr.	2950	22095	0	0	25045	0	1	6
39	Pune Commr.	2024	3983	0	0	6007	0	3	10
40	Thane Commr.	1355	2226	1	0	3580	0	6	11
41	Mumbai Commr.	12800	23737	0	22	36515	0	2	3
42	Nasik Commr.	270	907	0	0	1177	0	1	1
43	Aurangabad Commr.	240	794	0	0	1034	0	2	2
44	Solapur Commr.	21957	1365	0	0	23322	0	0	0
45	Navi Mumbai	181	902	0	0	1083	1	5	3
46	Amravati Commr.	202	1454	0	0	1656	0	4	0
*	**Total Commrs.**	**41979**	**57463**	**1**	**22**	**99419**	**1**	**24**	**36**
*	**Total of M.S**	**60076**	**147766**	**1**	**36**	**207805**	**26**	**131**	**131**

तक्ता क्र. १७ (पुर्ण)

Table No. 17 (Concluded)

Sr. No.	Unit	Cases in ended as final report as Non Cognizable Submitted during the year	Cases in which charge-sheets were submitted	Cases in which charge-sheets were not laid but final report as True submitted during the year	Total cases Disposed off by police (Col. 8+ 9+10 + 11+12+13)	Cases pending investigation at the end of the year	Charge-sheeting Rate Col.12/ (Col.3+4)*100	Cases Pendency Rate {Col.15/ (3+4)} x 100
1	2	11	12	13	14	15	16	17
1	Akola	1	2551	80	2633	454	85.23	14.71
2	Amravati Rural	3	4746	114	4893	607	88.36	11.04
3	Buldhana	3	4082	13	4103	949	81.06	18.78
4	Yavatmal	16	5940	104	6111	1212	82.53	16.55
5	Washim	0	1781	20	1801	484	78.82	21.18
*	**Amravati Range**	**23**	**19100**	**331**	**19541**	**3706**	**83.58**	**15.94**
6	Aurangabad Rural	1	1633	8	1647	266	85.78	13.90
7	Jalna	2	1683	0	1685	382	81.42	18.48
8	Beed	5	2088	4	2103	1159	64.13	35.53
9	Osmanabad	4	1154	12	1174	305	78.84	20.62
*	**Aurangabad Range**	**12**	**6558**	**24**	**6609**	**2112**	**75.47**	**24.22**
10	Nanded	1	1969	43	2020	575	77.53	22.16
11	Latur	2	1686	0	1708	357	81.65	17.29
12	Parbhani	4	1463	1	1485	306	81.74	17.09
13	Hingoli	1	815	3	819	138	85.48	14.42
*	**Nanded Range**	**8**	**5933**	**47**	**6032**	**1376**	**80.72**	**18.57**
14	Kolhapur	2	1561	11	1577	402	79.43	20.31
15	Pune Rural	0	2434	197	2631	1971	57.17	42.83
16	Sangli	3	1423	10	1440	720	66.07	33.20
17	Satara	5	1882	133	2024	409	82.82	16.81
18	Solapur Rural	1	3982	18	4007	1825	68.55	31.28
*	**Kolhapur Range**	**11**	**11282**	**369**	**11679**	**5327**	**68.46**	**31.30**
19	Bhandara	1	2097	10	2108	684	75.47	24.50
20	Chandrapur	1	5195	45	5243	2386	68.69	31.28
21	Nagpur Rural	2	3204	26	3234	1480	68.52	31.40
22	Wardha	9	9052	23	9087	4675	65.94	33.97
*	**Nagpur Range**	**13**	**19548**	**104**	**19672**	**9225**	**68.01**	**31.92**
23	Gadchiroli	0	1722	10	1734	815	67.95	31.97
24	Gondia	1	2137	3	2141	537	79.91	20.05
*	**Gadchiroli Range**	**1**	**3859**	**13**	**3875**	**1352**	**74.08**	**25.87**
25	Ahmednagar	2	3599	142	3745	1098	77.25	22.67
26	Dhule	0	1168	18	1189	325	78.34	21.47
27	Jalgaon	5	3171	44	3231	338	90.08	9.47
28	Nasik Rural	2	1838	13	1861	558	76.52	23.07
29	Nandurbar	0	996	5	1002	177	84.90	15.01
*	**Nasik Range**	**9**	**10772**	**222**	**11028**	**2496**	**81.29**	18.46
30	Raigad	19	555	7	588	396	57.06	40.20
31	Ratnagiri	0	361	16	379	130	74.07	25.54
32	Sindhudurg	2	301	6	313	68	80.37	17.80
33	Thane Rural	0	707	34	741	413	64.21	35.79
34	Palghar	3	517	21	557	437	54.12	43.96
*	**Thane Range**	**24**	**2441**	**84**	**2578**	**1444**	**62.75**	**35.88**
35	Mumbai Railway	1	86	17	104	16	85.83	13.33
36	Pune Railway	0	45	9	54	18	75.00	25.00
37	Nagpur Railway	0	85	33	119	23	83.10	16.20
*	**Railway Range**	**1**	**216**	**59**	**277**	**57**	**82.34**	**17.07**
38	Nagpur Commr.	1	20792	90	20890	4155	83.38	16.59
39	Pune Commr.	1	4050	17	4081	1926	67.70	32.06
40	Thane Commr.	7	1892	58	1974	1606	54.45	44.85
41	Mumbai Commr.	0	22398	119	22522	13993	61.63	38.30
42	Nasik Commr.	0	763	20	785	392	66.53	33.31
43	Aurangabad Commr.	0	713	21	738	296	70.99	28.63
44	Solapur Commr.	0	1503	9	1512	21810	6.48	93.52
45	Navi Mumbai	7	799	16	831	252	75.25	23.27
46	Amravati Commr.	1	1419	18	1442	214	86.78	12.92
*	**Total Commrs.**	**17**	**54329**	**368**	**54775**	**44644**	**55.00**	**44.89**
*	**Total of M.S**	**119**	**134038**	**1621**	**136066**	**71739**	**65.27**	**34.52**

Note: Sum of Column 16 and 17 doesn't come 100 due to the reason of other disposals shown in Columns 5,6,8,9,10 and 11

तक्ता क्र. १८

सन २०१५ मध्ये न्यायालयांकडून भा.दं.वि. कायद्यांतर्गत गुन्हयांची निर्गती - गुन्हे शिर्ष निहाय

Table No. 18

Disposal of IPC Cases by Courts during 2015 (Crime Head-wise)

Sr. No	Crime Head	Cases pending trial from the previous year	Cases sent for trial during the year	No. of cases withdrawn by the Govt.	No. Of cases disposed by Plea Bargaining	Total no. Of cases for trial during the year Col.7=Col.3+4 - Col.5 - col. 6	Cases compounded or withdrawn
1	2	3	4	5	6	7	8
1	Murder	25543	2187	2	0	27728	1
2	Attempt to commit Murder	18942	2374	0	0	21316	29
3	Culpable Homicide not amounting to Murder	1264	133	0	0	1397	1
4	Attempt to commit Culpable Homicide	36	15	0	0	51	0
5	Rape	16848	3456	1	0	20303	29
6	Attempt to commit Rape	35	16	0	0	51	0
7	Kidnapping & Abduction_Total	12421	1930	1	0	14350	52
8	Dacoity	6529	602	0	0	7131	11
9	Making Preparation and Assembly for committing Dacoity	2786	275	0	0	3061	1
10	Robbery	29663	4825	16	0	34472	84
11	Criminal Trespass/Burglary_Total	68539	5203	26	0	73716	131
12	Theft	190985	17907	854	0	208038	1753
13	Unlawful Assembly	7879	800	25	0	8654	99
14	Riots	60335	6894	78	0	67151	763
15	Criminal Breach of Trust	21759	1291	6	1	23043	96
16	Cheating	55765	5138	8	0	60895	232
17	Forgery	2195	464	0	0	2659	17
18	Counterfeiting	894	73	0	0	967	0
19	Arson	8116	769	3	0	8882	87
20	Grievous Hurt	92109	7225	250	0	99084	1010
21	Dowry Deaths	3942	252	0	0	4194	7
22	Assault on women with intent to outrage her Modesty	37097	9243	17	0	46323	418
23	Insult to the Modesty of Women	10887	1008	0	0	11895	146
24	Cruelty by Husband or his Relatives	57374	6622	7	2	63987	975
25	Importation of Girls from Foreign Country	1	0	0	0	1	0
26	Causing Death by Negligence	83883	8082	232	0	91733	241
27	Offences against State	3	1	0	0	4	0
28	Offences promoting enmity between different groups	53	50	0	0	103	0
29	Extortion	3518	656	0	0	4174	35
30	Disclosure of Identity of Victims	23	0	0	0	23	0
31	Incidence of Rash Driving	131180	25413	202	0	156391	1458
32	Human Trafficking	75	30	0	0	105	0
33	Unnatural Offences	258	95	0	0	353	0
34	Other IPC crimes	460555	61463	673	0	521345	6225
35	**Total Cognizable IPC crimes**	**1411492**	**174492**	**2401**	**3**	**1583580**	**13901**

तक्ता क्र. १८ (पुर्ण)

Table No. 18 (Concluded)

Sr. No	Crime Head	Cases in which trials were completed (Col.9= Col. 10+11)	Cases convicted	Cases acquitted or discharged	Cases Pending Trial at the end of the year (Col.7 - (Col.8+9)	Cases Conviction Rate (Col. 10/9)x 100	Cases Pendency Rate (Col. 12/7)x 100
1	2	9	10	11	12	13	14
1	Murder	1498	419	1079	26229	27.97	94.59
2	Attempt to commit Murder	1139	193	946	20148	16.94	94.52
3	Culpable Homicide not amounting to Murder	92	11	81	1304	11.96	93.34
4	Attempt to commit Culpable Homicide	12	2	10	39	16.67	76.47
5	Rape	1379	292	1087	18895	21.17	93.07
6	Attempt to commit Rape	4	2	2	47	50.00	92.16
7	Kidnapping & Abduction_Total	728	86	642	13570	11.81	94.57
8	Dacoity	331	13	318	6789	3.93	95.20
9	Making Preparation and Assembly for committing Dacoity	150	4	146	2910	2.67	95.07
10	Robbery	1752	600	1152	32636	34.25	94.67
11	Criminal Trespass/Burglary_Total	2880	902	1978	70705	31.32	95.92
12	Theft	9493	2425	7068	196792	25.55	94.60
13	Unlawful Assembly	453	31	422	8102	6.84	93.66
14	Riots	3979	242	3737	62409	6.08	92.98
15	Criminal Breach of Trust	665	63	602	22282	9.47	96.70
16	Cheating	2025	270	1755	58638	13.33	96.30
17	Forgery	233	24	209	2409	10.30	90.60
18	Counterfeiting	33	11	22	934	33.33	96.59
19	Arson	521	45	476	8274	8.64	93.17
20	Grievous Hurt	4993	521	4472	93081	10.43	94.03
21	Dowry Deaths	311	26	285	3876	8.36	92.42
22	Assault on women with intent to outrage her Modesty	3006	506	2500	42899	16.83	92.62
23	Insult to the Modesty of Women	641	75	566	11108	11.70	93.38
24	Cruelty by Husband or his Relatives	4607	197	4410	58405	4.28	91.30
25	Importation of Girls from Foreign Country	0	0	0	1		100.00
26	Causing Death by Negligence	5299	465	4834	86193	8.78	93.96
27	Offences against State	0	0	0	4		100.00
28	Offences promoting enmity between different groups	3	0	3	100	0.00	97.09
29	Extortion	289	21	268	3850	7.27	92.26
30	Disclosure of Identity of Victims	0	0	0	23		100.00
31	Incidence of Rash Driving	19563	9086	10477	135370	46.44	86.57
32	Human Trafficking	4	4	0	101	100.00	96.19
33	Unnatural Offences	27	15	12	326	55.56	92.35
34	Other IPC crimes	44391	19899	24492	470729	44.83	90.30
35	**Total Cognizable IPC crimes**	**110501**	**36450**	**74051**	**1459178**	**32.99**	**92.16**

तक्ता क्र. १९

सन २०१५ मध्ये न्यायालयांकडून भा.दं.वि. खटल्यांची निर्गती - घटक निहाय

Table No. 19

Disposal Of IPC Cases By Courts During - 2015 (Unit-Wise)

Sr. No.	Unit	Cases pending trial from the previous year	Cases sent for trial during the year	No of cases withdrawn by the Govt during investigation	Cases disposed off by Plea Bargaining	Cases for Trial during the year	Cases compounded or withdrawn
1	2	3	4	5	6	7	8
1	Akola	20212	3757	4	0	23965	282
2	Amravati Rural	26334	5549	50	0	31833	324
3	Buldhana	22938	3856	0	0	26794	996
4	Yavatmal	52129	6498	0	0	58627	281
5	Washim	6321	1852	0	0	8173	186
	Amravati Range	**127934**	**21512**	**54**	**0**	**149392**	**2069**
6	Aurangabad Rural	25579	3662	0	0	29241	380
7	Jalna	19866	3075	0	0	22941	938
8	Beed	18111	3210	0	0	21321	380
9	Osmanabad	13862	2351	0	0	16213	60
	Aurangabad Range	**77418**	**12298**	**0**	**0**	**89716**	**1758**
10	Nanded	40321	4064	0	0	44385	435
11	Latur	38401	2801	0	0	41202	200
12	Parbhani	17225	3082	0	0	20307	35
13	Hingoli	11526	1512	0	0	13038	107
	Nanded Range	**107473**	**11459**	**0**	**0**	**118932**	**777**
14	Kolhapur	31689	4395	0	0	36084	283
15	Pune Rural	48831	8375	0	0	57206	233
16	Sangli	21063	5008	0	0	26071	162
17	Satara	20360	4525	0	0	24885	199
18	Solapur Rural	46975	5769	7	0	52737	362
	Kolhapur Range	**168918**	**28072**	**7**	**0**	**196983**	**1239**
19	Bhandara	8181	1393	29	0	9545	163
20	Chandrapur	24000	3523	0	0	27523	3
21	Nagpur Rural	39673	3194	0	0	42867	708
22	Wardha	14578	2786	0	0	17364	66
	Nagpur Range	**86432**	**10896**	**29**	**0**	**97299**	**940**
23	Gadchiroli	2626	972	0	0	3598	9
24	Gondia	5753	1407	0	0	7160	73
	Gadchiroli Range	**8379**	**2379**	**0**	**0**	**10758**	**82**
25	Ahmednagar	47686	5456	1	0	53141	852
26	Dhule	17194	1953	29	0	19118	157
27	Jalgaon	37275	5364	0	0	42639	363
28	Nasik Rural	36669	4200	0	0	40869	122
29	Nandurbar	6718	994	0	0	7712	134
	Nasik Range	**145542**	**17967**	**30**	**0**	**163479**	**1628**
30	Raigad	11509	1842	352	0	12999	456
31	Ratnagiri	4557	1546	0	0	6103	12
32	Sindhudurg	2150	715	0	0	2865	6
33	Thane Rural	21737	2077	9	0	23805	119
34	Palghar	27780	2847	490	0	30137	104
	Thane Range	**67733**	**9027**	**851**	**0**	**75909**	**697**
35	Mumbai Railway	10382	2449	741	0	12090	326
36	Pune Railway	1053	289	0	0	1342	29
37	Nagpur Railway	5457	527	0	0	5984	97
	Railway Range	**16892**	**3265**	**741**	**0**	**19416**	**452**
38	Nagpur Commr.	76646	6225	0	0	82871	345
39	Pune Commr.	124316	7320	10	0	131626	345
40	Thane Commr.	91372	6889	8	0	98253	402
41	Mumbai Commr.	186824	24620	653	0	210791	2622
42	Nasik Commr.	30174	2049	1	0	32222	152
43	Aurangabad Commr.	24661	3012	9	0	27664	43
44	Solapur Commr.	20447	1055	4	0	21498	137
45	Navi Mumbai	37275	4018	2	3	41288	129
46	Amravati Commr.	13056	2429	2	0	15483	84
	Total Commrs.	**604771**	**57617**	**689**	**3**	**661696**	**4259**
	Total	**1411492**	**174492**	**2401**	**3**	**1583580**	**13901**

तक्ता क्र. १९ (पुर्ण)

Table No. 19 (Concluded)

SR No.	Unit	Cases in which Trials were Completed (Col.9= Col.10+11)	Cases convicted	Cases Acquitted or Discharged	Cases Pending Trial at the end of the year	Cases Conviction Rate (Col.10/9)x100	Cases Pendency Rate (Col.12/7)x100
1	2	9	10	11	12	13	14
1	Akola	2138	599	1539	21545	28.02	89.90
2	Amravati Rural	2673	866	1807	28836	32.40	90.59
3	Buldhana	2958	394	2564	22840	13.32	85.24
4	Yavatmal	3534	581	2953	54812	16.44	93.49
5	Washim	947	151	796	7040	15.95	86.14
*	**Amravati Range**	**12250**	**2591**	**9659**	**135073**	**5.79**	**90.42**
6	Aurangabad Rural	2149	992	1157	26712	46.16	91.35
7	Jalna	1472	492	980	20531	33.42	89.49
8	Beed	2660	742	1918	18281	27.89	85.74
9	Osmanabad	1864	392	1472	14289	21.03	88.13
*	**Aurangabad Range**	**8145**	**2618**	**5527**	**79813**	**14.57**	**88.96**
10	Nanded	3211	1024	2187	40739	31.89	91.79
11	Latur	2752	1439	1313	38250	52.29	92.84
12	Parbhani	2483	789	1694	17789	31.78	87.60
13	Hingoli	1092	224	868	11839	20.51	90.80
*	**Nanded Range**	**9538**	**3476**	**6062**	**108617**	**9.01**	**91.33**
14	Kolhapur	2829	994	1835	32972	35.14	91.38
15	Pune Rural	3190	1081	2109	53783	33.89	94.02
16	Sangli	3325	1956	1369	22584	58.83	86.62
17	Satara	3109	1311	1798	21577	42.17	86.71
18	Solapur Rural	3897	2255	1642	48478	57.87	91.92
*	**Kolhapur Range**	**16350**	**7597**	**8753**	**179394**	**24.37**	**91.07**
19	Bhandara	1572	333	1239	7810	21.18	81.82
20	Chandrapur	2800	467	2333	24720	16.68	89.82
21	Nagpur Rural	2695	694	2001	39464	25.75	92.06
22	Wardha	2454	512	1942	14844	20.86	85.49
*	**Nagpur Range**	**9521**	**2006**	**7515**	**86838**	**14.96**	**89.25**
23	Gadchiroli	1012	441	571	2577	43.58	71.62
24	Gondia	1439	296	1143	5648	20.57	78.88
*	**Gadchiroli Range**	**2451**	**737**	**1714**	**8225**	**8.04**	**76.45**
25	Ahmednagar	4313	679	3634	47976	15.74	90.28
26	Dhule	1749	403	1346	17212	23.04	90.03
27	Jalgaon	7294	2104	5190	34982	28.85	82.04
28	Nasik Rural	4013	1349	2664	36734	33.62	89.88
29	Nandurbar	1035	256	779	6543	24.73	84.84
*	**Nasik Range**	**18404**	**4791**	**13613**	**143447**	**16.72**	**87.75**
30	Raigad	1393	156	1237	11150	11.20	85.78
31	Ratnagiri	1857	451	1406	4234	24.29	69.38
32	Sindhudurg	942	138	804	1917	14.65	66.91
33	Thane Rural	1040	153	887	22646	14.71	95.13
34	Palghar	980	230	750	29053	23.47	96.40
*	**Thane Range**	**6212**	**1128**	**5084**	**69000**	**11.53**	**90.90**
35	Mumbai Railway	1011	862	149	10753	85.26	88.94
36	Pune Railway	109	85	24	1204	77.98	89.72
37	Nagpur Railway	96	64	32	5791	66.67	96.77
*	**Railway Range**	**1216**	**1011**	**205**	**17748**	**73.14**	**91.41**
38	Nagpur Commr.	2111	314	1797	80415	14.87	97.04
39	Pune Commr.	3587	407	3180	127694	11.35	97.01
40	Thane Commr.	2690	861	1829	95161	32.01	96.85
41	Mumbai Commr.	12737	7186	5551	195432	56.42	92.71
42	Nasik Commr.	1035	223	812	31035	21.55	96.32
43	Aurangabad Commr.	1674	633	1041	25947	37.81	93.79
44	Solapur Commr.	627	160	467	20734	25.52	96.45
45	Navi Mumbai	1113	633	480	40046	56.87	96.99
46	Amravati Commr.	840	78	762	14559	9.29	94.03
*	**Total Commrs.**	**26414**	**10495**	**15919**	**631023**	**39.73**	**95.36**
**	**Total**	**110501**	**36450**	**74051**	**1459178**	**32.99**	**92.14**

तक्ता क्र. २०

सन २०१५ मध्ये न्यायालयांकडून विशेष व स्थानिक कायद्यांतर्गत खटल्यांची निर्गती - गुन्हे शिर्ष निहाय

Table -20

Disposal of SLL Cases by Courts during 2015 (Crime Head-wise)

Sr. No.	Crime Head	Cases pending trial from the previous year	Cases sent for trial during the year	No. of cases withdrawn by the Govt.	No. Of cases disposed by Plea Bargaining	Total no. Of cases for trial during the year (Col.3+4) - (Col.5 - col. 6)	Cases compounded or withdrawn
1	2	3	4	5	6	7	8
1	Arms Act, 1959	15748	1137	0	0	16885	34
2	Narcotic Drugs & Psychotropic Substances Act, 1985	17273	18683	0	0	35956	767
3	Gambling Act, 1867	143596	18356	24	43	161885	1258
4	Excise Act, 1944	1	0	0	0	1	0
5	Prohibition Act	715010	57866	284	0	772592	5759
6	Explosives and Explosive Substances Act	823	36	0	0	859	2
7	Immoral Traffic (Prevention) Act, 1956	3901	324	0	0	4225	1
8	Indian Railways Act, 1989	1259	11	0	0	1270	32
9	Registration of Foreigners Act, 1939	425	0	0	0	425	0
10	Protection of Civil Rights Act, 1955	307	5	0	0	312	0
10.1	PCR Act for crimes committed against SCs	300	5	0	0	305	0
10.2	PCR Act for crimes committed against STs	7	0	0	0	7	0
10.3	PCR Act for crimes committed against Others	0	0	0	0	0	0
11	Passport Act, 1967	446	55	0	0	501	0
12	Essential Commodities Act, 1955	18169	689	0	0	18858	52
13	Antiquities & Art Treasures Act, 1972	19	2	0	0	21	0
14	Dowry Prohibition Act, 1961	310	46	0	0	356	1
15	Indecent Representation of Women (Prohibition) Act, 1986	56	0	0	0	56	0
16	Copyright Act, 1957	7056	292	3	0	7345	22
17	Protection of Child from Sexual Offences	184	47	0	0	231	0
18	SC/ST (Prevention of Atrocities) Act, 1989)	2063	226	1	0	2288	1
18.1	POA Act for crimes committed against SCs	1597	192	1	0	1788	1
18.2	POA Act for crimes committed against STs	466	34	0	0	500	0
19	Forest Act, 1927	374	19	0	0	393	1
20	Prohibition of Child Marriage Act, 2006	108	25	0	0	133	0
21	Protection of Women from Domestic Violence Act, 2005	21	4	0	0	25	0
22	Information Technology Act, 2000	337	115	0	0	452	3
23	Official Secrets Act, 1923	1	0	0	0	1	0
24	Electricity Act, 2003	2611	185	2	0	2794	33
25	Wildlife Protection Act, 1972	271	37	0	0	308	3
26	Bonded Labour System (Abolition) Act, 1976	5	3	0	0	8	0
27	Environmental (Protection) Act, 1986	85	40	0	0	125	1

तक्ता क्र. २०

सन २०१५ मध्ये न्यायालयांकडून विशेष व स्थानिक कायद्यांतर्गत खटल्यांची निर्गती - गुन्हे शिर्ष निहाय

Table -20

Disposal of SLL Cases by Courts during 2015 (Crime Head-wise)

Sr. No.	Crime Head	Cases pending trial from the previous year	Cases sent for trial during the year	No. of cases withdrawn by the Govt.	No. Of cases disposed by Plea Bargaining	Total no. Of cases for trial during the year Col.3+4 - Col.5 - col. 6	Cases compounded or withdrawn
1	2	3	4	5	6	7	8
28	Air (Prevention & Control of Pollution) Act, 1981	12	16	0	0	28	0
29	Water (Prevention & Control of Pollution) Act, 1974 (as amended in 1988)	0	1	0	0	1	0
30	National Security Act, 1980	2	1	0	0	3	0
31	Unlawful Activities (Prevention) Act, 1967	1	0	0	0	1	0
32	Young Persons (Harmful Publications) Act, 1956	0	0	0	0	0	0
33	Railway Property (Unlawful Possession) Act, 1966	3	0	0	0	3	0
34	Prevention of Damage to Public Property Act, 1984	452	117	0	0	569	5
35	Transplantation of Human Organs Act, 1994	0	0	0	0	0	0
36	Trade Marks Act, 1999	0	3	0	0	3	0
37	Prevention of Insults to National Honour Act, 1971	35	9	0	0	44	0
38	State Emblem (Prohibition of Improper Use) Act, 2005	0	0	0	0	0	0
39	Lotteries (Regulation) Act, 1998	37	15	0	0	52	0
40	Citizenship Act, 1955	0	0	0	0	0	0
41	Foreigners Act, 1946	18	15	0	0	33	0
42	Place of Worship (Special Provisions) Act, 1991	0	0	0	0	0	0
43	Religious Institution (Prevention of Misuse) Act, 1988	1	0	0	0	1	0
44	Representation of People Act, 1951	66	28	0	0	94	2
45	Emigration Act, 1983	1	0	0	0	1	0
46	Juvenile Justice (Care and Protection of Children) Act, 2000	32	89	0	0	121	2
47	Infant Substitutes Regulation Act, 2003	1	0	0	0	1	0
48	Anti-Hijacking Act, 1982	0	0	0	0	0	0
49	Atomic Energy Act, 1962	1	0	0	0	1	0
50	Weapons of Mass Destruction (Proh. of Unlawful Activities) Act, 2005	0	0	0	0	0	0
51	Suppression of Unlawful Acts against Safety of Civil Aviation Act, 1982	0	0	0	0	0	0
52	Safety of Maritime Navigation Act, 2002	0	0	0	0	0	0
53	Manual Scavengers and Construction of Dry Latrines (P) Act, 1993	0	0	0	0	0	0
54	Pre-Natal Diagnostic Techniques (Reg and Prev of Misuse) Act, 1994	1	1	0	0	2	0
55	The Maritime Zones of India (Reg of Fishing by Foreign Vessels) Act, 1981	0	0	0	0	0	0
56	Other SLL crimes	236762	35540	146	0	272156	4932
57	**Total Cognizable SLL crimes**	**1167884**	**134038**	**460**	**43**	**1301419**	**12911**

तक्ता क्र. २० (पुर्ण)

Table No. 20 (Concluded)

Sr. No.	Crime Head	Cases in which trials were completed (Col. 10+11)	Cases convicted	Cases acquitted or discharged	Cases pending trial at the end of the year (Col.7 - (Col.8+9)	Cases Conviction Rate (Col. 10/9)x 100	Cases Pendency Rate (Col. 12/7)x 100
1	2	9	10	11	12	13	14
1	Arms Act, 1959	567	43	524	16284	7.6	96.44
2	Narcotic Drugs & Psychotropic Substances Act, 1985	9938	9367	571	25251	94.3	70.23
3	Gambling Act, 1867	11526	4271	7255	149101	37.1	92.10
4	Excise Act, 1944	0	0	0	1		100.00
5	Prohibition Act	36582	605	35977	730251	1.7	94.52
6	Explosives and Explosive Substances Act	33	4	29	824	12.1	95.93
7	Immoral Traffic (Prevention) Act, 1956	156	100	56	4068	64.1	96.28
8	Indian Railways Act, 1989	8	6	2	1230	75.0	96.85
9	Registration of Foreigners Act, 1939	1	1	0	424	100.0	99.76
10	Protection of Civil Rights Act, 1955	19	0	19	293	0.0	93.91
10.1	PCR Act for crimes committed against SCs	19	0	19	286	0.0	93.77
10.2	PCR Act for crimes committed against STs	0	0	0	7		100.00
10.3	PCR Act for crimes committed against Others	0	0	0	0		-
11	Passport Act, 1967	29	23	6	472	79.3	94.21
12	Essential Commodities Act, 1955	989	24	965	17817	2.4	94.48
13	Antiquities & Art Treasures Act, 1972	0	0	0	21		100.00
14	Dowry Prohibition Act, 1961	25	0	25	330	0.0	92.70
15	Indecent Representation of Women (Prohibition) Act, 1986	0	0	0	56		100.00
16	Copyright Act, 1957	242	7	235	7081	2.9	96.41
17	Protection of Child from Sexual Offences	6	1	5	225	16.7	97.40
18	SC/ST (Prevention of Atrocities) Act, 1989)	220	9	211	2067	4.1	90.34
18.1	POA Act for crimes committed against SCs	177	8	169	1610	4.5	90.04
18.2	POA Act for crimes committed against STs	43	1	42	457	2.3	91.40
19	Forest Act, 1927	41	2	39	351	4.9	89.31
20	Prohibition of Child Marriage Act, 2006	6	0	6	127	0.0	95.49
21	Protection of Women from Domestic Violence Act, 2005	0	0	0	25		100.00
22	Information Technology Act, 2000	21	1	20	428	4.8	94.69
23	Official Secrets Act, 1923	1	0	1	0	0.0	0.00
24	Electricity Act, 2003	219	18	201	2542	8.2	90.98
25	Wildlife Protection Act, 1972	22	3	19	283	13.6	91.88
26	Bonded Labour System (Abolition) Act, 1976	0	0	0	8		100.00
27	Environmental (Protection) Act, 1986	13	0	13	111	0.0	88.80

तक्ता क्र. २० (पुर्ण)

Table No. 20 (Concluded)

Sr. No.	Crime Head	Cases in which trials were completed (Col. 10+11)	Cases convicted	Cases acquitted or discharged	Cases pending trial at the end of the year (Col.7 - (Col.8+9)	Cases Conviction Rate (Col. 10/9)x 100	Cases Pendency Rate (Col. 12/7)x 100
1	2	9	10	11	12	13	14
28	Air (Prevention & Control of Pollution) Act, 1981	3	0	3	25	0.0	89.3
29	Water (Prevention & Control of Pollution) Act, 1974(as amended in 1988)	0	0	0	1		100.0
30	National Security Act, 1980	0	0	0	3		100.0
31	Unlawful Activities (Prevention) Act, 1967	0	0	0	1		100.0
32	Young Persons (Harmful Publications) Act, 1956	0	0	0	0		
33	Railway Property (Unlawful Possession) Act, 1966	0	0	0	3		100.0
34	Prevention of Damage to Public Property Act, 1984	50	18	32	514	36.0	90.3
35	Transplantation of Human Organs Act, 1994	0	0	0	0		
36	Trade Marks Act, 1999	1	1	0	2	100.0	66.7
37	Prevention of Insults to National Honour Act, 1971	3	0	3	41	0.0	93.2
38	State Emblem (Prohibition of Improper Use) Act, 2005	0	0	0	0		
39	Lotteries (Regulation) Act, 1998	2	2	0	50	100.0	96.2
40	Citizenship Act, 1955	0	0	0	0		
41	Foreigners Act, 1946	14	12	2	19	85.7	57.6
42	Place of Worship (Special Provisions) Act, 1991	0	0	0	0		
43	Religious Institution (Prevention of Misuse) Act, 1988	1	0	1	0	0.0	0.0
44	Representation of People Act, 1951	7	0	7	85	0.0	90.4
45	Emigration Act, 1983	0	0	0	1		100.0
46	Juvenile Justice (Care and Protection of Children) Act, 2000	8	6	2	111	75.0	91.7
47	Infant Substitutes Regulation Act, 2003	0	0	0	1		100.0
48	Anti-Hijacking Act, 1982	0	0	0	0		
49	Atomic Energy Act, 1962	0	0	0	1		100.0
50	Weapons of Mass Destruction (Proh. of Unlawful Activities) Act, 2005	0	0	0	0		
51	Suppression of Unlawful Acts against Safety of Civil Aviation Act, 1982	0	0	0	0		
52	Safety of Maritime Navigation Act, 2002	0	0	0	0		
53	Manual Scavengers and Construction of Dry Latrines (P) Act, 1993	0	0	0	0		
54	Pre-Natal Diagnostic Techniques (Reg and Prev of Misuse) Act, 1994	0	0	0	2		100.0
55	The Maritime Zones of India (Reg of Fishing by Foreign Vessels) Act, 1981	0	0	0	0		
56	Other SLL crimes	22174	16110	6064	245050	72.7	90.0
57	**Total Cognizable SLL crimes**	**82927**	**30634**	**52293**	**1205581**	**36.9**	**92.6**

तक्ता क्र. २१

सन २०१५ मध्ये न्यायालयांकडून विशेष व स्थानिक कायद्यांतर्गत खटल्यांची निर्गती (घटक - निहाय)

Table 21

Disposal of SLL Cases by Courts during 2015 (UNIT-WISE)

Sr. No.	Unit	Cases pending trial from the previous year (col.21)	Cases sent for trial during the year	No. of cases withdrawn by the Govt.	No. Of cases disposed by Plea Bargaining.	Total no. Of cases for trial during the year Col.3+4 - (Col.5 - Col. 6)	Cases compounded or withdrawn
1	2	3	4	5	6	7	8
1	Akola	12841	2551	0	0	15392	298
2	Amravati Rural	25386	4746	0	0	30132	266
3	Buldhana	17022	4082	0	0	21104	3186
4	Yavatmal	67962	5940	0	0	73902	12
5	Washim	5058	1781	0	0	6839	83
*	**Amravati Range**	**128269**	**19100**	**0**	**0**	**147369**	**3845**
6	Aurangabad Rural	12144	1633	3	0	13774	121
7	Jalna	11520	1683	0	0	13203	58
8	Beed	9290	2088	0	0	11378	483
9	Osmanabad	9920	1154	0	0	11074	1
*	**Aurangabad Range**	**42874**	**6558**	**3**	**0**	**49429**	**663**
10	Nanded	16928	1969	0	0	18897	382
11	Latur	35413	1686	0	0	37099	0
12	Parbhani	8739	1463	0	0	10202	0
13	Hingoli	6930	815	0	0	7745	241
*	**Nanded Range**	**68010**	**5933**	**0**	**0**	**73943**	**623**
14	Kolhapur	23586	1561	0	0	25147	123
15	Pune Rural	37008	2434	0	0	39442	0
16	Sangli	31903	1423	0	0	33326	25
17	Satara	7192	1882	0	0	9074	1
18	Solapur Rural	69647	3982	0	0	73629	0
*	**Kolhapur Range**	**169336**	**11282**	**0**	**0**	**180618**	**149**
19	Bhandara	13754	2097	0	0	15851	552
20	Chandrapur	14857	5195	0	0	20052	0
21	Nagpur Rural	33858	3204	0	0	37062	321
22	Wardha	24723	9052	0	0	33775	2
*	**Nagpur Range**	**87192**	**19548**	**0**	**0**	**106740**	**875**
23	Gadchiroli	1562	1722	0	0	3284	2
24	Gondia	7177	2137	0	0	9314	6
*	**Gadchiroli Range**	**8739**	**3859**	**0**	**0**	**12598**	**8**
25	Ahmednagar	42614	3599	0	0	46213	0
26	Dhule	18621	1168	0	0	19789	397
27	Jalgaon	27288	3171	0	0	30459	323
28	Nasik Rural	22352	1838	0	0	24190	21
29	Nandurbar	7810	996	2	43	8761	137
*	**Nasik Range**	**118685**	**10772**	**2**	**43**	**129412**	**878**
30	Raigad	4385	555	232	0	4708	6
31	Ratnagiri	1747	361	0	0	2108	0
32	Sindhudurg	1377	301	0	0	1678	0
33	Thane Rural	7730	707	93	0	8344	2
34	Palghar	9449	517	0	0	9966	0
*	**Thane Range**	**24688**	**2441**	**325**	**0**	**26804**	**8**
35	Mumbai Railway	2107	86	0	0	2193	110
36	Pune Railway	259	45	0	0	304	0
37	Nagpur Railway	3772	85	0	0	3857	13
*	**Railway Range**	**6138**	**216**	**0**	**0**	**6354**	**123**
38	Nagpur Commr.	74854	20792	0	0	95646	726
39	Pune Commr.	158017	4050	19	0	162048	4
40	Thane Commr.	53491	1892	3	0	55380	66
41	Mumbai Commr.	43827	22398	105	0	66120	4726
42	Nasik Commr.	45727	763	0	0	46490	1
43	Aurangabad Commr.	12682	713	1	0	13394	0
44	Solapur Commr.	93944	1503	0	0	95447	13
45	Navi Mumbai	19565	799	0	0	20364	27
46	Amravati Commr.	11846	1419	2	0	13263	176
*	**Total Commrs.**	**513953**	**54329**	**130**	**0**	**568152**	**5739**
**	**Total**	**1167884**	**134038**	**460**	**43**	**1301419**	**12911**

तक्ता क्र. २१ (पुर्ण)

Table No. 21 (Concluded)

Sr. No.	Unit	Cases in which trials were completed (Col. 10+11)	Cases convicted	Cases acquitted or discharged	Cases pending trial at the end of the year (Col.7 - (Col.8+9)	Cases Conviction Rate (Col. 10/9)x 100	Cases Pendency Rate (Col. 12/7)x 100
1	2	9	10	11	12	13	14
1	Akola	956	391	565	14138	40.9	91.9
2	Amravati Rural	2890	930	1960	26976	32.2	89.5
3	Buldhana	2555	212	2343	15363	8.3	72.8
4	Yavatmal	3526	612	2914	70364	17.4	95.2
5	Washim	777	50	727	5979	6.4	87.4
	Amravati Range	**10704**	**2195**	**8509**	**132820**	**20.5**	**90.1**
6	Aurangabad Rural	1385	208	1177	12268	15.0	89.1
7	Jalna	1299	704	595	11846	54.2	89.7
8	Beed	1305	485	820	9590	37.2	84.3
9	Osmanabad	1530	136	1394	9543	8.9	86.2
	Aurangabad Range	**5519**	**1533**	**3986**	**43247**	**27.8**	**87.5**
10	Nanded	771	64	707	17744	8.3	93.9
11	Latur	1493	37	1456	35606	2.5	96.0
12	Parbhani	1102	117	985	9100	10.6	89.2
13	Hingoli	329	33	296	7175	10.0	92.6
	Nanded Range	**3695**	**251**	**3444**	**69625**	**6.8**	**94.2**
14	Kolhapur	1002	101	901	24022	10.1	95.5
15	Pune Rural	976	72	904	38466	7.4	97.5
16	Sangli	746	76	670	32555	10.2	97.7
17	Satara	1376	399	977	7697	29.0	84.8
18	Solapur Rural	1863	500	1363	71766	26.8	97.5
	Kolhapur Range	**5963**	**1148**	**4815**	**174506**	**19.3**	**96.6**
19	Bhandara	2275	339	1936	13024	14.9	82.2
20	Chandrapur	2542	563	1979	17510	22.1	87.3
21	Nagpur Rural	2021	414	1607	34720	20.5	93.7
22	Wardha	7353	207	7146	26420	2.8	78.2
	Nagpur Range	**14191**	**1523**	**12668**	**91674**	**10.7**	**85.9**
23	Gadchiroli	2177	11	2166	1105	0.5	33.6
24	Gondia	1293	143	1150	8015	11.1	86.1
	Gadchiroli Range	**3470**	**154**	**3316**	**9120**	**4.4**	**72.4**
25	Ahmednagar	1423	181	1242	44790	12.7	96.9
26	Dhule	506	21	485	18886	4.2	95.4
27	Jalgaon	4730	873	3857	25406	18.5	83.4
28	Nasik Rural	1340	197	1143	22829	14.7	94.4
29	Nandurbar	1103	83	1020	7521	7.5	85.8
	Nasik Range	**9102**	**1355**	**7747**	**119432**	**14.9**	**92.3**
30	Raigad	582	23	559	4120	4.0	87.5
31	Ratnagiri	958	12	946	1150	1.3	54.6
32	Sindhudurg	612	10	602	1066	1.6	63.5
33	Thane Rural	254	40	214	8088	15.7	96.9
34	Palghar	150	31	119	9816	20.7	98.5
	Thane Range	**2556**	**116**	**2440**	**24240**	**4.5**	**90.4**
35	Mumbai Railway	25	17	8	2058	68.0	93.8
36	Pune Railway	57	53	4	247	93.0	81.3
37	Nagpur Railway	20	14	6	3824	70.0	99.1
	Railway Range	**102**	**84**	**18**	**6129**	**82.4**	**96.5**
38	Nagpur Commr.	12490	11195	1295	82430	89.6	86.2
39	Pune Commr.	1968	732	1236	160076	37.2	98.8
40	Thane Commr.	1028	214	814	54286	20.8	98.0
41	Mumbai Commr.	10514	9667	847	50866	91.9	76.9
42	Nasik Commr.	234	73	161	46255	31.2	99.5
43	Aurangabad Commr.	305	46	259	13089	15.1	97.7
44	Solapur Commr.	283	81	202	95151	28.6	99.7
45	Navi Mumbai	307	204	103	20030	66.4	98.4
46	Amravati Commr.	482	63	419	12605	13.1	95.0
	Total Commrs.	**27611**	**22275**	**5336**	**534788**	**80.7**	**94.1**
	Total	**82913**	**30634**	**52279**	**1205581**	**36.9**	**92.6**

प्रकरण - ५

स्त्रियांवरील अत्याचाराचे गुन्हे

५.१.१ गेल्या काही वर्षातील स्त्रियांवरील अत्याचार निर्मूलनासंबंधी जागतिक पातळीवरील मोहिमा या स्त्रियांवरील अत्याचाराची उग्रता व त्या विषयाच्या गांभीर्याच्या निदर्शक आहेत. ही अत्यंत गंभीर स्वरुपाची समस्या आहे. महाराष्ट्रातील स्त्रियांना त्यांच्या सर्व मूलभूत हक्कांची शाश्वती दिली पाहिजे. त्यासाठी सामाजिक जाणीव वृद्धिंगत करण्याबरोबरच फौजदारी न्याय व्यवस्थेकडून कठोर अंमलबजावणी करणे आवश्यक आहे.

५.१.२ अनेक प्रकारे संरक्षण असले तरी स्वतःच्या हक्कांसंबंधीची अनभिज्ञता, अशिक्षितपणा, अनिष्ट प्रथा व रूढी यामुळे आपल्या स्त्रियांना त्रास भोगावा लागतो याचे दुष्परिणाम अनेक आहेत. उदा. पुरूष-स्त्री प्रमाणात सातत्याने होणारी घट, बाल मृत्यू प्रमाणात वाढ, मुलींची शैक्षणिक अधोगती, कमी रोजंदारी वेतन इत्यादी.

स्त्रियांचे कायदेशीर अधिकार

५.२.१ राज्यघटनेतील तरतुदींप्रमाणे केंद्र व राज्य सरकारांनी स्त्रियांना समान अधिकार, सामाजिक भेदभाव व अत्याचार प्रतिबंध, त्याचप्रमाणे कामकरी महिलांना संरक्षण व इतर पूरक सेवा देण्यासंदर्भात कायदे केले आहेत.

५.२.२ स्त्रिया या अनेक गुन्हयांना बळी पडतात.मात्र खून, जबरी चोरी इत्यादी जे गुन्हे स्त्रियांच्या विरोधात होतात त्यांना स्त्रियांविरोधी गुन्हे म्हटले जात नाही. एखादी व्यक्ती स्त्री आहे म्हणून तिच्यावर अत्याचार होतो, अशाच गुन्ह्यांना स्त्रियांवरील अत्याचाराचे गुन्हे असे संबोधण्यात येते. यामध्ये लैंगिक भेद ही प्रमुख बाब आहे.

CHAPTER – 5

CRIME AGAINST WOMEN

5.1.1 The global campaign for elimination of violence against women in recent years indicates the enormity as well as seriousness of the atrocities committed against women the world over. This is a matter of serious concern.Women in Maharashtra are to be guaranteed with all the fundamental rights, raising the level of social awareness along with vigorous enforcement within the context of the Criminal Justice System.

5.1.2 Despite many safeguards available, the women in our society continue to suffer due to lack of awareness of their rights, illiteracy and oppressive practices & customs. Consequently, distortions like constant fall in the sex ratio, high infant mortality rate, low literacy rate, high drop out rate of girls from schools, low wage rates etc are seen.

Legal Rights of women

5.2.1 Under the Constitutional mandate, the Central and State Govts. have enacted various legislative measures intended to ensure equal rights, to prohibit social discrimination and various forms of violence and to provide support services, especially to working women.

5.2.2 Though in various crimes, i.e. murder, robbery etc.women are victims, they are not categorised as crime against women.Only those offences, which are specifically committed against women, are treated as crime against women.The gender discrimination is sole reason behind such crimes..

५.२.३ भारतीय दंड विधान संहितेमधील गुन्हे

१) बलात्कार (कलम ३७६ भादंवि) .
२) अपहरण व पळवून नेणे (कलम ३६३, ३६६ भादंवि) .
३) हुंडाबळी (कलम ३०४ (ब) भादंवि) .
४) पती व पत्नीच्या नातेवाईकांकडून छळ (मानसिक व शारीरिक) (कलम ४९८ (अ) भादंवि.).
५) विनयभंग (कलम ३५४ भादंवि).
६) लैंगिक छळ (कलम ५०९ भादंवि).
७) मुलींची आयात करणे (२१ वर्षा पर्यंतच्या) (कलम ३६६ (ब) भादंवि).
८) हुंडयासाठी खून (३०२ भादंवि).
९) हुंडयासाठी खुनाचा प्रयत्न (३०७ भादंवि).
१०)आत्महत्येस प्रवृत्त करणे (३०६ भादंवि).

5.2.3. Crimes Identified Under the Indian Penal Code.

1) Rape (Sec.376 IPC).
2) Kidnapping & Abduction for different purposes Sec.363, 366 IPC).
3) Dowry Deaths.(Sec.304 (B) IPC).
4) Cruelty by Husband & Relatives (Mental / Physical Torture) (Sec.498(A) IPC).
5) Molestation (Sec.354 IPC).
6) Sexual Harassment (Sec.509 IPC).
7) Importation of girls (upto 21 years of age) (Sec.366-(B) IPC).
8) Murder for Dowry (Sec 302 IPC).
9) Att.to Murder for Dowry (Sec 307 IPC).
10) Abetment to commit suicide (Sec 306 IPC).

विशेष व स्थानिक कायद्याअंतर्गत गुन्हे

५.२.४ कोणताही कायदा लैंगिक भेदभाव करीत नाही. तथापि ज्या कायद्यान्वये स्त्रिया बाधित होतात, त्यांचा वेळोवेळी आढावा घेतला जातो आणि आवश्यकतेप्रमाणे कायद्यात बदल केले जातात, स्त्रिया व त्यांच्या प्रश्नांना संरक्षण देणारे विशेष सामाजिक कायदे पुढीलप्रमाणे आहेत.

१. राज्य कर्मचारी विमा कायदा १९४८.
२. लागवड (प्लँटेशन) मजूर कायदा १९५१.
३. कौटुंबिक न्यायालय कायदा १९५१.
४. विशेष विवाह कायदा १९५५.
५. हिंदू विवाह कायदा १९५६.
६. हिंदू वारसा हक्क कायदा १९५६.
७. अनैतिक व्यापार (प्रतिबंधक) कायदा १९५६.
८. मातृत्व कायदा १९६१ (सुधारित १९९५).
९. हुंडा प्रतिबंधक कायदा १९६१.
१०. वैद्यकीय गर्भपात कायदा १९७१.
११. मजूर करार कायदा (कायम ठराव आणि रद्दबातल १९७९).
१२. समान वेतन कायदा १९७६.
१३. फौजदारी कायदा (सुधारित) १९८३.
१४. कारखानाविषयक कायदा (सुधारित) १९८६.
१५. स्त्रियांचे अश्लिल प्रदर्शन (प्रतिबंधक) कायदा १९८६.
१६. सती (प्रतिबंधक) कायदा १९८७ .
१७. बालविवाह प्रतिबंधक कायदा २००६.

The Crimes identified under the Special & Local Laws (SLL)

5.2.4 No law can be gender baised. The provisions of the law specifically affecting women are being periodically reviewed and amended according to the needs of changing patterns of the society and to safeguard the women folk.

1. The Employees State Insurance Act, 1948.
2. The Plantation Labour Act, 1951.
3. The Family Courts Act, 1951.
4. The Special Marriage Act, 1955.
5. The Hindu Marriage Act, 1956.
6. The Hindu Succession Act, 1956.
7. Immoral Traffic (Prevention) Act, 1956.
8. The Maternity Benefit Act,1961 (Amended in 1995).
9. Dowry Prohibition Act, 1961.
10. The Medical Termination of Pregnancy Act, 1971.
11. The Contract Labour (Regulation and Abolition) Act, 1979
12. The Equal Remuneration Act, 1976.
13. The Criminal Law Act (Amendment), 1983.
14. The Factories Act (Amendment), 1986.
15. Indecent Representation of Women (Prohibition) Act, 1986.
16. Commission of Sati (Prevention) Act, 1987.
17. Prohibition of Child Marriage Act, 2006.

५.२.५ या गुन्हयांची जिल्हा / आयुक्तालय-निहाय माहिती या पुस्तकाच्या संबंधित प्रकरणामध्ये दिलेली आहे. त्याचे विश्लेषण खालील परिच्छेदात दिले आहे.

5.2.5 The detailed Dists. / Commrs.-wise information of these crimes is presented in the concerned chapters of report, while related analysis is discussed in the following paragraphs.

स्त्रियांवरील अत्याचाराबाबतचे गुन्हे

५.३.१ गुन्हयांची वेगवेगळया शीर्षाप्रमाणे २०१३ ते २०१५ पावेतो माहिती पुढील तक्त्यात दिली आहे. स्त्रियांवरील अत्याचाराच्या गुन्हयांत २०१४ च्या तुलनेत सन २०१५ मध्ये १६.५७% वाढ झाली आहे. २०१४ च्या तुलनेत सन २०१५ मध्ये ४४२५ गुन्हे वाढले आहेत.

Incidences of Offences Against Women

5.3.1 The Crime head-wise incidences of reported crimes during 2013 to 2015 along with percentage variation is presented below. It is observed that crimes against women during 2015 have increased by 16.57% as compared to the year 2014. A specific increase of 4425 cases has been reported at the State level during 2015 as compared to 2014.

तक्ता क्र ५.१

स्त्रियांवरील अत्याचाराचे गुन्हे २०१३ ते २०१५

Table No. 5.1

Crime Against Women during 2013 - 2015

Sr No.	Crime Head	YEAR			Percentage variation during 2015 over 2014
		2013	2014	2015	
[1]	[2]	[3]	[4]	[5]	[6]
1	Rape (Sec.376 IPC)	3063	**3438**	**4144**	20.54
2	Attempt to commit Rape (Sec.376/511 IPC)	*	**15**	**13**	-13.33
3	Kidnapping & Abduction of Women (Sec.363,364,364A,365 TO 369 IPC)	1874	**2457**	**5096**	107.41
4	Dowry Deaths (Sec.304B IPC)	320	**279**	**268**	-3.94
5	Assault on Women with intent to outrage her Modesty (Sec.354 IPC)	8132	**10001**	**11713**	17.12
6	Insult to the Modesty of Women (Sec.509 IPC)	2632	**1575**	**1119**	-28.95
7	Cruelty by Husband or his relatives (Sec.498 A IPC)	8542	**7696**	**7640**	-0.73
8	Importation of Girls (upto 21 years) from Foreign Country (Sec.366 B IPC)	0	**1**	**0**	-100.00
9	Abetment of suicides of women (u/s 306 IPC)	963	**986**	**702**	-28.80
10	Dowry Prohibition Act, 1961	43	**39**	**42**	7.69
11	Indecent Representation of Women (Prohibition) Act, 1986	0	**0**	**0**	
12	Commission of Sati Prevention Act 1987	0	**0**	**0**	
13	Protection of Women from Domestic Violence Act, 2005	*	**4**	**8**	100.00
14	Immoral Traffic (Prevention) Act (Women Cases only)	289	**202**	**381**	88.61
	Total Crimes against Women	**25858**	**26693**	**31126**	16.57

*** Indicates that the Crime Head was not introduced till that year**

आलेख क. ५.१

सन २०१५ मधील स्त्रियांवरील अत्याचाराच्या वेगवेगळया गुन्हयांची टक्केवारी

Chart No. 5.1

Percentage Distribution of various Crimes Against Women During 2015

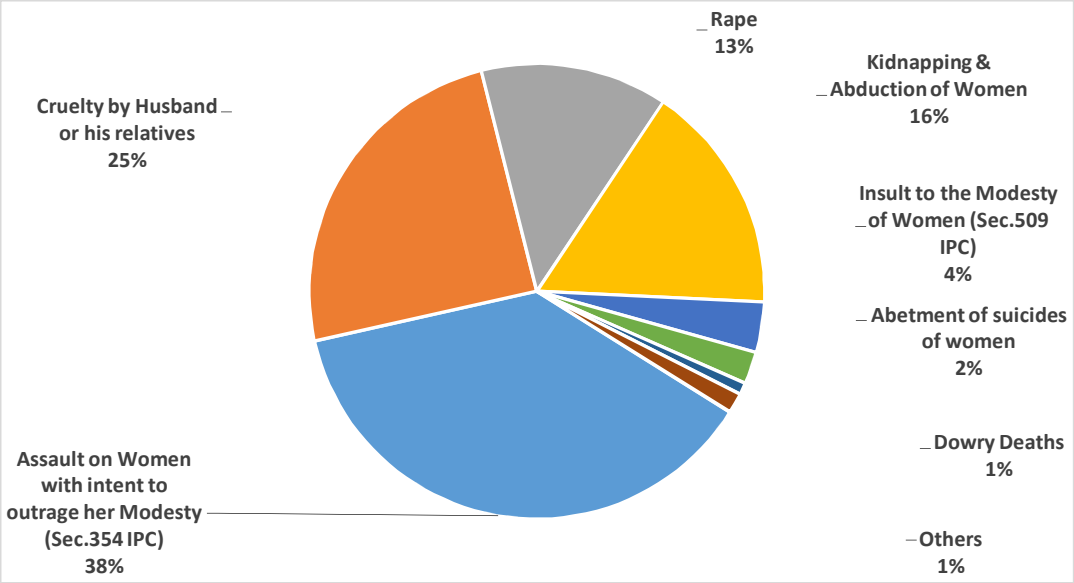

५.३.२ स्त्री अत्याचाराबाबत सन २०१४ मधील गुन्हयांची भा.दं.वि. मधील एकुण टक्केवारी १०.६८% होती. त्यामध्ये २०१५ सालात वाढ होऊन ती ११.३०% इतकी झाली आहे.

5.3.2 The percentage of IPC crimes commited against women, in total IPC crimes was 10.68% during 2014, which has increases up to 11.30% during 2015.

तक्ता क्र. ५.२

एकूण भा.दं.वि. गुन्हयांपैकी स्त्रियांवरील अत्याचाराच्या गुन्ह्यांचे प्रमाण

Table No. 5.2

Proportion of Crime against Women (IPC) in total IPC crimes

Sr. No.	Year	Total IPC Crimes	Crime Against women (IPC cases)	Percentage to total IPC Crimes
1	2	3	4	5
1	2013	234385	26129	11.15
2	2014	249834	26693	10.68
3	2015	275414	31126	11.30

५.३.३ उपलब्ध माहितीवरून असे दिसून येते की, स्त्रियांवरील अत्याचाराचे भा.दं.वि. कलमाखाली दाखल झालेल्या गुन्हयांत गेल्या तीन वर्षात सर्वसाधारणपणे वाढ झालेली आहे.

5.3.3 The available data indicates an overall increase under IPC crimes against women during the last three years.

गुन्हयाचे प्रमाण

५.४.१ स्त्रियांवरील अत्याचाराच्या गुन्हयांचे प्रमाण (गुन्हे प्रति एक लाख जनसंख्या) २०१५ मध्ये ५४.८० इतके आहे. हे प्रमाण प्राथमिकरीत्या फार गंभीर आहे. दिल्ली येथील 'निर्भया' केसनंतर स्त्रिया स्वत:हून तक्रार देण्यास पुढे येत आहेत.

५.४.२ राज्यात स्त्रियांवरील अत्याचाराच्या दाखल झालेल्या एकुण गुन्ह्यांचा विचार करता सर्वात मोठा वाटा मुंबई शहराचा (१५.४५%) आहे, तदनंतर पुणे शहर (६.३३%), ठाणे शहर (५.२९%), नागपुर शहर (४.१८%), पुणे ग्रामीण (३.५९%) व यवतमाळ (३.५८%) अशी क्रमवारी आहे.

Crime Rate

5.4.1 The rate of crime against women in Maharashtra (i.e. number of crimes against women per Lakh of population) is 54.80 during 2015 . This rate of crime, appears alarming at the outset. After Delhi 'Nirbhaya' case women are coming forward to complain themself.

5.4.2 Mumbai (C) accounts for 15.43% of all crimes against women, which is the highest in the state, followed by Pune (C) (6.33%) , Thane (C) (5.29%), Nagpur(C)(4.18%) , Pune rural (3.59%) & Yavatmal (3.58%).

आलेख क्र.५.२

सन २०१५ मधील घटक-निहाय स्त्रियांवरील अत्याचाराची शेकडा विभागणी

Chart No. 5.2

Dist. / Commr.-wise percentage contribution to total crimes committed against women during 2015

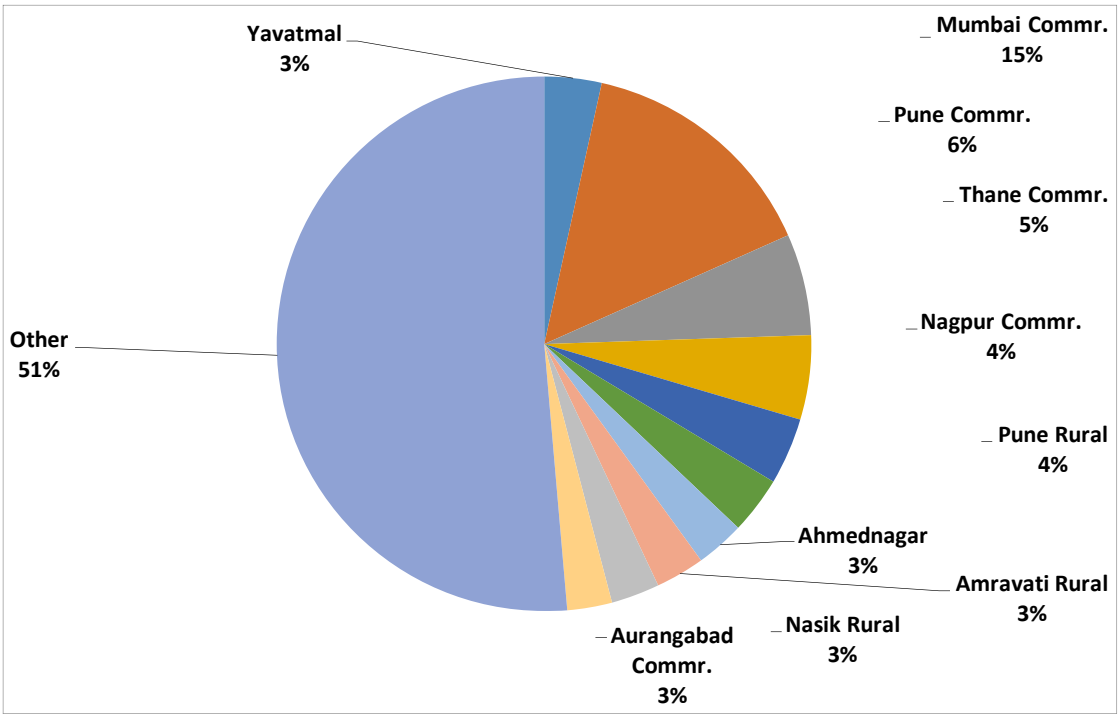

आलेख क्र. ५.३

सन २०१५ मधील स्त्रियांवरील अत्याचाराचे दाखल झालेल्या गुन्हयाचे प्रमाण

Chart No. 5.3

Rate of Total Crime Committed Against Women During-2015

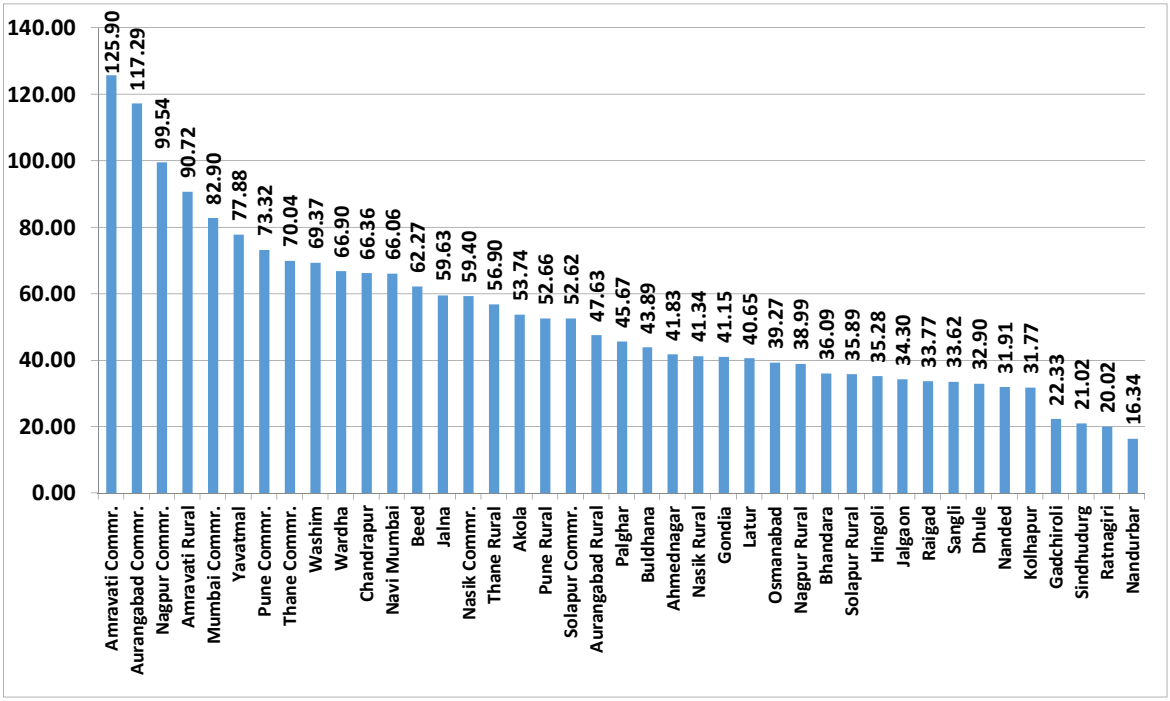

५.४.३ स्त्री अत्याचाराबाबतच्या दाखल झालेल्या गुन्हयांचे २०१५ चे विश्लेषण पुढीलप्रमाणे.

5.4.3 A detailed analysis of crimes against women reported in Maharashtra State during the year 2015 is presented below.

<u>बलात्कार</u>

<u>Rape</u>

५.४.४ २०१५ मध्ये बलात्काराचे एकूण ४१४४ गुन्हे घडले. २०१४ च्या तुलनेत २०१५ मध्ये २०.५४% नी वाढ झालेली आहे.

5.4.4 There were 4144 cases of rape reported during 2015, which is an increase by 20.54% as compared to 2014.

५.४.५ बलात्कारास बळी पडलेल्या स्त्रियांची एकूण संख्या २०१५ मध्ये ४१८९ तर २०१४ मध्ये ३४६५ होती. सन २०१४ च्या तुलनेत चालू सालात २०.८९% इतकी वाढ आहे. एकूण ४१८९ पैकी १३८५ (३३.००%) स्त्रिया १८ ते ३० वयोगटातील होत्या. १०३० बालिका (२४.५८%) १६ ते १८ वयोगटातील, ८६५ बालिका (२०.६४%) १२ ते १६ वयोगटातील, ४५६ स्त्रिया (१०.८८%) ३० ते ४५ वयोगटातील. १८ ते ३० वयोगटाच्या स्त्रियांमध्ये २०१४ च्या तुलनेत २०१५ मध्ये ९.१४% ने वाढ झाली आहे.

5.4.5 There were 4189 rape victims during 2015 as compared to 3465 rape victims during 2014. This shows an increase by 20.89%. Among them, 1385 (33.00%) were in the age group of 18-30 years, 1030 (24.58%) were in the age group between 16-18 years, 865(20.64%) were in the age group between 12-16 years, and 456(10.88%) were in the age group between 30-45. This reflects a partly increase in the number of rape victims in the age group of 18-30, which shows an increase by 9.14% during 2015 as compared to 2014.

तक्ता क्र. ५.३

सन २०१४ - २०१५ मधील बलात्काराचे पीडित, त्याचे वयोगटानुसार वर्गीकरण व बदलाची टक्केवारी

Table No. 5.3

Victims of Rape by Age-Groups & percentage changes during 2015 over 2014

Year	Below 12 years	12-16 years	16-18 years	18-30 years	30-45 years	45-60 years	60 years & above	Total of all age-groups
2014	365	731	628	1269	410	53	9	3465
2015	372	865	1030	1385	456	72	9	4189
% change in 2015 as compared to	1.92	18.33	64.01	9.14	11.22	35.9	0.0	20.89

कोठडीतील बलात्कार

५.४.६ पोलिसांच्या ताब्यात असताना घडलेल्या बलात्कारांची संख्या ' निरंक ' आहे.

Custodial Rapes

5.4.6 During the year 2015 there was no custodial rape.

अपहरण आणि पळवून नेणे (स्त्रियां व मुली)

५.४.७ राज्यात सन २०१४ च्या तुलनेत सन २०१५ मध्ये या गुन्हयामध्ये १०७.४१% नी वाढ झालेली आहे. मुंबई शहरामध्ये २२२.८६% वाढ झाली आहे.

Kidnapping & Abduction (Women & Girls)

5.4.7 Incidences of these cases has increased by 107.41% during 2015 as compared to 2014. In Mumbai (C) it is increased by 222.86%.

हुंडाबळी

५.४.८ २०१४ व २०१५ मध्ये अनुक्रमे २७९ व २६८ गुन्हे दाखल झाले आहेत. २०१५ मध्ये ३.९४% नी घट झालेली आहे.

Dowry Death

5.4.8 279 and 268 dowry death cases have been reported during year 2014 and 2015 respectively, a decrease by 3.94%. has been reported during 2015.

पती व पतीच्या नातेवाईकांकडून अत्याचार (छळ)

५.४.९ २०१४ च्या तुलनेत २०१५ मध्ये ०.७३% घट झालेली आहे. २०१५ मधील राज्यात दाखल ७६४० गुन्हयांपैकी सर्वात जास्त म्हणजे ६५८ (८.६१%) गुन्हे मुंबई शहरात दाखल झाले आहेत.

Cruelty by Husband & Relatives (Torture)

5.4.9 The incidences of such cases (7640 in 2015) in the State have decreased by 0.73% during 2015 as compared to the previous year 2014. Highest number of cases 658 (8.61%) have been reported in Mumbai (C) district during 2015, out of total 7640 reported crimes in the State.

विनयभंग

५.४.१० २०१४ शी तुलना करता २०१५ मध्ये या गुन्हे शीर्षाखालील घटनांमध्ये १७.११% वाढ झाली आहे. राज्यात २०१५ मध्ये ११७१३ गुन्हे दाखल झाले. मुंबई शहर (२००८), पुणे शहर (७०५), ठाणे शहर (५६४), पुणे ग्रामीण (५०८), यवतमाळ (४५८) व अमरावती ग्रा. (४१८) ही सन २०१५ मधील जास्त गुन्हे दाखल झालेली घटक आहेत.

Molestation

5.4.10 During 2015, the incidences of Molestation cases in the State have increased by 17.11% as compared to 2014. 11713 cases have been reported during 2015. Mumbai (C) (2008), Pune (C) (705),Thane (C) (564), Pune (R) (508), Yavatmal (458), and Amaravati (R) (418) were major contributors.

छेडछाड (स्त्रियांना लज्जा उत्पन्न होईल अशी वर्तणुक)

५.४.११ सन २०१५ मध्ये १११९ गुन्हे दाखल झाले आहेत. या गुन्हयांमध्ये २०१४ चे मानाने सन २०१५ मध्ये ४०.७५% घट झाली आहे. सदर शीर्षाखाली राज्यात दाखल झालेल्या एकूण गुन्हयांपैकी मुंबई शहर (४१२) ३६.८२%,यवतमाळ (१४०) १२.५१%, ठाणे ग्रामीण (१२१) १०.८१% पुणे शहर (६६) ५.९०%, व ठाणे शहर (४१) ३.६६%, असे गुन्हे दाखल झाले आहेत.

Sexual Harassment (Eve-teasing)

5.4.11 Overall 1119 eve-teasing cases have been reported in the State during 2015, which shows an decrease by 40.75% as compared to 2014. Mumbai (C) (412) 36.82%, followed by Yavatmal has mejor share(140) 12.51%, Thane(R)(121) 10.81% ,Pune (C) (66) 5.90%, and Thane (C) (41) 3.66%.

अनैतिक व्यापार प्रतिबंधक कायदा

५.४.१२ या शिर्षांखालील गुन्हयांमध्ये २०१५ (३८१) मध्ये २०१४ (२०२) च्या तुलनेत ८८.६१% ने वाढ झालेली आहे. दाखल झालेल्या गुन्हयांपैकी ३५.४३% गुन्हे एकट्या नागपुर शहरात दाखल झाले आहेत.

Immoral Human Trafficking (Prev.) Act 1956

5.4.12 Cases under this Act have increased by 88.61% during 2015 (381) as compared to 2014 (202). 35.43% of total cases have been reported from Nagpur (C) only.

स्त्रियांचे अश्लिल प्रदर्शन (प्रतिबंधक) कायदा

५.४.१३ या शिर्षांखाली राज्यात २०१४ व २०१५ मध्ये एकही गुन्हा दाखल झाला नाही.

५.४.१४ आत्महत्येसाठी प्रवृत्त करणे : सन २०१५ मध्ये ७०२ गुन्हे दाखल झाले असून, सन २०१५ च्या तुलनेत २०१४ मध्ये या शिर्षाखाली २८.८० % ने घट झाली आहे. राज्यात सर्वात जास्त गुन्हे अहमदनगर (५४), बीड (४९), सोलापुर ग्रामीण (४०)] अमरावती ग्रामीण (३९) व सातारा (३८) दाखल झाले आहेत.

Indecent Representation of Women (Prohibition) Act.

5.4.13 During 2014 and 2015, no cases have been reported under this head.

5.4.14 Abetment to commit Suicide : During 2015, 702 cases of Abetment to commit Suicide have been reported in the State, which shows 28.80% decreases as compared to 2014. Highest number of cases have been reported from Ahmednagar (54), followed by Beed (49), Solapur (R) (40) Amravati (R)(39) and Satara (38).

स्त्रियांवरील अत्याचाराबाबत दाखल गुन्हयांची निर्गती

५.५.१ स्त्रियांवरील अत्याचाराबाबत दाखल झालेल्या गुन्हयांची पोलीस व न्यायालयांकडून निर्गती झालेल्या गुन्हयांची माहिती पुढील परिच्छेदात दिलेली आहे.

Disposal of cases of Offences Against Women

5.5.1 Statewise details of disposal of such cases by police & courts are presented in the following paragraphs.

गुन्ह्यांची पोलिसांनी केलेली निर्गती

५.६.१ भारतीय दंड विधान आणि विशेष व स्थानिक कायदयान्वये दाखल झालेल्या स्त्रियांवरील अत्याचाराच्या गुन्हयांची पोलिसांनी सन २०१५ मध्ये केलेली निर्गती तक्ता क्र. २५ मध्ये दिली आहे.

५.६.२ सन २०१५ मध्ये स्त्रियांवरील अत्याचाराच्या गुन्हयांपैकी ५९.३० % गुन्हयांची निर्गती पोलिसांनी केली आहे.

५.६.३ सन २०१५ मध्ये स्त्रियांवरील अत्याचारांच्या गुन्हयांबाबतचे दोषारोपपत्र पाठविण्याचे प्रमाण ९७.१२% असे आहे.

न्यायालयांकडील निर्गती

५.७.१ भारतीय दंड विधान आणि विशेष व स्थानिक कायद्यान्वये दाखल झालेल्या स्त्रियांवरील अत्याचाराच्या गुन्हयांची कोर्टाने २०१५ मध्ये केलेली निर्गती तक्ता क्र. २६ मध्ये दिली आहे.

५.७.२ सन २०१५ मध्ये स्त्रियांवरील अत्याचाराच्या गुन्हयांच्या कोर्ट निर्गतीचे प्रमाणे ७.८ असून सन २०१५ अखेर १५०८८२ (९२.३%) केसेस न्यायालयात प्रलंबित आहेत.

इतर माहिती

५.८.१ अटक केलेल्या व पोलिसांकडून निर्गती झालेल्या स्त्री-पुरूष आरोपींची माहिती 'अटक व खटले' प्रकरण क्र. १२ मध्ये दिलेली आहे. त्याचप्रमाणे बालगुन्हेगारांना ताब्यात घेतले बाबतची व त्यांच्या निर्गतीची माहिती ' विधिसंघर्षग्रस्त बाल ' या स्वतंत्र प्रकरणात दिलेली आहे.

Disposal by Police

5.6.1 The crime head-wise disposal of cases of crime against women under IPC & SLL by Police during 2015 is presented in Table No. 25

5.6.2 During 2015 Police have disposed 59.30% of cases of crime against women.

5.6.3 During 2015, percentage of Chargesheeted cases of Crime against Women was 97.12%.

Disposal by Courts

5.7.1 The crime head-wise disposal of cases of crime against women (IPC & SLL) by courts during 2015 is presented in Table No. 26.

5.7.2 Disposal of cases of Crime Against Women by court is 7.8% which shows 150822 (92.3%) cases are pending in court for year 2015.

Other Details

5.8.1 The description of persons arrested for crimes against women, and their disposal by police and courts is presented in chapter 'Arrests and trials' in Chapter No.12. A similar description of Juveniles apprehended for these crimes is presented in the separate chapter on 'Juvenile in conflict with law'.

तक्ता क्र. २२

सन २०१५ मधील स्त्रियांवरील अत्याचाराचे घटक-निहाय दाखल गुन्हे व त्यांचे प्रमाण

Table No 22

Incidence & Rate Of Crime Against Women In Dist./Commrs. During 2015

Sr. No.	UNIT	Incidence	Percentage Contribution To State Total	Estimated Female Population(In Lakhs)	Rate Of Total Cognizable Crimes	Rank on the Basis of Col.6	Rank on the Basis of Col.4
1	2	3	4	5	6	7	8
1	Akola	489	1.57	9.10	53.74	17	27
2	Amravati Rural	948	3.05	10.45	90.72	4	8
3	Buldhana	567	1.82	12.92	43.89	24	21
4	Yavatmal	1115	3.58	14.32	77.88	6	6
5	Washim	425	1.37	6.13	69.37	9	31
*	**Amravati Range**	**3544**	**11.39**	**52.91**	**66.98**		
6	Aurangabad Rural	539	1.73	11.32	47.63	22	23
7	Jalna	607	1.95	10.18	59.63	14	20
8	Beed	823	2.64	13.22	62.27	13	11
9	Osmanabad	329	1.06	8.38	39.27	29	34
*	**Aurangabad Range**	**2298**	**7.38**	**43.09**	53.33		
10	Nanded	554	1.78	17.36	31.91	38	22
11	Latur	512	1.64	12.60	40.65	28	24
12	Parbhani	473	1.52	9.60	49.27	29	28
13	Hingoli	214	0.69	6.07	35.28	33	39
*	**Nanded Range**	**1753**	**5.63**	**45.62**	38.42		
14	Kolhapur	633	2.03	19.93	31.77	39	17
15	Pune Rural	1118	3.59	21.23	52.66	18	5
16	Sangli	493	1.58	14.66	33.62	36	26
17	Satara	754	2.42	15.65	48.19	21	12
18	Solapur Rural	610	1.96	17.00	35.89	32	19
*	**Kolhapur Range**	**3608**	**11.59**	**88.46**	40.78		
19	Bhandara	225	0.72	6.23	36.09	31	38
20	Chandrapur	751	2.41	11.32	66.36	11	13
21	Nagpur Rural	420	1.35	10.77	38.99	30	32
22	Wardha	443	1.42	6.62	66.90	10	30
*	**Nagpur Range**	**1839**	**5.91**	**34.95**	52.63		
23	Gadchiroli	125	0.40	5.60	22.33	40	42
24	Gondia	286	0.92	6.95	41.15	27	36
*	**Gadchiroli Range**	**411**	**1.32**	**12.55**	32.76		
25	Ahmednagar	953	3.06	22.78	41.83	25	7
26	Dhule	348	1.12	10.58	32.90	37	33
27	Jalgaon	743	2.39	21.66	34.30	34	14
28	Nasik Rural	942	3.03	22.79	41.34	26	9
29	Nandurbar	142	0.46	8.69	16.34	43	41
*	**Nasik Range**	**3128**	**10.05**	**86.50**	36.16		
30	Raigad	316	1.02	9.36	33.77	35	35
31	Ratnagiri	171	0.55	8.54	20.02	42	40
32	Sindhudurg	91	0.29	4.33	21.02	41	44
33	Thane Rural	643	2.07	11.30	56.90	16	16
34	Palghar	691	2.22	15.13	45.67	23	15
*	**Thane Range**	**1912**	**6.14**	**48.66**	39.30		
35	Mumbai Railway	117	0.38				43
36	Pune Railway	24	0.08				46
37	Nagpur Railway	32	0.10				45
*	**Railway Range**	**173**	**0.56**				
38	Nagpur Commr.	1302	4.18	13.08	99.54	3	4
39	Pune Commr.	1969	6.33	26.85	73.32	7	2
40	Thane Commr.	1646	5.29	23.50	70.04	8	3
41	Mumbai Commr.	4803	15.43	57.94	82.90	5	1
42	Nasik Commr.	474	1.52	7.98	59.40	15	29
43	Aurangabad Commr.	882	2.83	7.52	117.29	2	10
44	Solapur Commr.	264	0.85	5.02	52.62	19	37
45	Navi Mumbai	619	1.99	9.37	66.06	12	18
46	Amravati Commr.	501	1.61	3.98	125.90	1	25
*	**Total Commrs.**	**12460**	**40.03**	**155.24**	**80.26**		
*	**Total of M.S**	**31126**	**100.00**	**567.98**	**54.80**		

तक्ता क्र. २३

सन २०१५ मधील स्त्रियांवरील अत्याचाराचे शीर्ष-निहाय व घटक-निहाय दाखल झालेले गुन्हे, गुन्हे प्रमाण व शेकडा प्रमाण

Table No. 23

Incidence (I), Victims(V) & Rate (R) of Crimes Committed Against Women During 2015 (UNIT - WISE)

Sr. No.	UNIT	Estimated Mid-Year Female Population (In Lakhs)	Rape (Section 376 IPC)											
			Rape (Section 376 IPC) Total			Custodial Rape								
						Custodial Rape Total			Gang Rape			Other Rape		
			I	V	R	I	V	R	I	V	R	I	V	R
1	2	3	4	5	6	7	8	9	10	11	12	13	14	15
1	Akola	**9.10**	44	44	4.84	0	0	0.00	0	0	0.00	0	0	0.00
2	Amravati Rural	**10.45**	122	122	11.67	0	0	0.00	0	0	0.00	0	0	0.00
3	Buldhana	**12.92**	63	63	4.88	0	0	0.00	0	0	0.00	0	0	0.00
4	Yavatmal	**14.32**	98	98	6.85	0	0	0.00	0	0	0.00	0	0	0.00
5	Washim	**6.13**	30	30	4.90	0	0	0.00	0	0	0.00	0	0	0.00
*	**Amravati Range**	**52.91**	**357**	**357**	**6.75**	**0**	**0**	**0.00**	**0**	**0**	0.00	**0**	**0**	0.00
6	Aurangabad Rural	**11.32**	45	45	3.98	0	0	0.00	0	0	0.00	0	0	0.00
7	Jalna	**10.18**	47	47	4.62	0	0	0.00	0	0	0.00	0	0	0.00
8	Beed	**13.22**	78	79	5.90	0	0	0.00	0	0	0.00	0	0	0.00
9	Osmanabad	**8.38**	54	54	6.45	0	0	0.00	0	0	0.00	0	0	0.00
*	**Aurangabad Range**	**43.09**	**224**	**225**	**5.20**	**0**	**0**	**0.00**	**0**	**0**	0.00	**0**	**0**	0.00
10	Nanded	**17.36**	70	70	4.03	0	0	0.00	0	0	0.00	0	0	0.00
11	Latur	**12.60**	54	54	4.29	0	0	0.00	0	0	0.00	0	0	0.00
12	Parbhani	**9.60**	44	44	4.58	0	0	0.00	0	0	0.00	0	0	0.00
13	Hingoli	**6.07**	22	22	3.63	0	0	0.00	0	0	0.00	0	0	0.00
*	**Nanded Range**	**45.62**	**190**	**190**	**4.16**	**0**	**0**	**0.00**	**0**	**0**	0.00	**0**	**0**	0.00
14	Kolhapur	**19.93**	93	93	4.67	0	0	0.00	0	0	0.00	0	0	0.00
15	Pune Rural	**21.23**	181	181	8.53	0	0	0.00	0	0	0.00	0	0	0.00
16	Sangli	**14.66**	67	68	4.57	0	0	0.00	0	0	0.00	0	0	0.00
17	Satara	**15.65**	114	114	7.29	0	0	0.00	0	0	0.00	0	0	0.00
18	Solapur Rural	**17.00**	109	110	6.41	0	0	0.00	0	0	0.00	0	0	0.00
*	**Kolhapur Range**	**88.46**	**564**	**566**	**6.38**	**0**	**0**	**0.00**	**0**	**0**	0.00	**0**	**0**	0.00
19	Bhandara	**6.23**	25	26	4.01	0	0	0.00	0	0	0.00	0	0	0.00
20	Chandrapur	**11.32**	126	126	11.13	0	0	0.00	0	0	0.00	0	0	0.00
21	Nagpur Rural	**10.77**	84	84	7.80	0	0	0.00	0	0	0.00	0	0	0.00
22	Wardha	**6.62**	60	60	9.06	0	0	0.00	0	0	0.00	0	0	0.00
*	**Nagpur Range**	**34.95**	**295**	**296**	**8.44**	**0**	**0**	**0.00**	**0**	**0**	0.00	**0**	**0**	0.00
23	Gadchiroli	**5.60**	41	41	7.32	0	0	0.00	0	0	0.00	0	0	0.00
24	Gondia	**6.95**	56	56	8.06	0	0	0.00	0	0	0.00	0	0	0.00
*	**Gadchiroli Range**	**12.55**	**97**	**97**	**7.73**	**0**	**0**	**0.00**	**0**	**0**	0.00	**0**	**0**	0.00
25	Ahmednagar	**22.78**	106	106	4.65	0	0	0.00	0	0	0.00	0	0	0.00
26	Dhule	**10.58**	35	35	3.31	0	0	0.00	0	0	0.00	0	0	0.00
27	Jalgaon	**21.66**	66	66	3.05	0	0	0.00	0	0	0.00	0	0	0.00
28	Nasik Rural	**22.79**	103	104	4.52	0	0	0.00	0	0	0.00	0	0	0.00
29	Nandurbar	**8.69**	25	25	2.88	0	0	0.00	0	0	0.00	0	0	0.00
*	**Nasik Range**	**86.50**	**335**	**336**	**3.87**	**0**	**0**	**0.00**	**0**	**0**	0.00	**0**	**0**	0.00
30	Raigad	**9.36**	88	88	9.40	0	0	0.00	0	0	0.00	0	0	0.00
31	Ratnagiri	**8.54**	48	48	5.62	0	0	0.00	0	0	0.00	0	0	0.00
32	Sindhudurg	**4.33**	28	28	6.47	0	0	0.00	0	0	0.00	0	0	0.00
33	Thane Rural	**11.30**	86	86	7.61	0	0	0.00	0	0	0.00	0	0	0.00
34	Palghar	**15.13**	135	136	8.92	0	0	0.00	0	0	0.00	0	0	0.00
*	**Thane Range**	**48.66**	**385**	**386**	**7.91**	**0**	**0**	**0.00**	**0**	**0**	0.00	**0**	**0**	0.00
35	Mumbai Railway	**0.00**	5	5	-	-	-	-	-	-	-	-	-	-
36	Pune Railway	**0.00**	4	4	-	-	-	-	-	-	-	-	-	-
37	Nagpur Railway	**0.00**	6	6	-	-	-	-	-	-	-	-	-	-
*	**Railway Range**	**0.00**	**15**	**15**	**-**	**0**	**0**		**0**	**0**		**0**	**0**	
38	Nagpur Commr.	**13.08**	166	183	12.69	0	0	0.00	0	0	0.00	0	0	0.00
39	Pune Commr.	**26.85**	266	270	9.91	0	0	0.00	0	0	0.00	0	0	0.00
40	Thane Commr.	**23.50**	251	251	10.68	0	0	0.00	0	0	0.00	0	0	0.00
41	Mumbai Commr.	**57.94**	712	724	12.29	0	0	0.00	0	0	0.00	0	0	0.00
42	Nasik Commr.	**7.98**	30	30	3.76	0	0	0.00	0	0	0.00	0	0	0.00
43	Aurangabad Commr.	**7.52**	65	65	8.64	0	0	0.00	0	0	0.00	0	0	0.00
44	Solapur Commr.	**5.02**	49	49	9.77	0	0	0.00	0	0	0.00	0	0	0.00
45	Navi Mumbai	**9.37**	104	109	11.10	0	0	0.00	0	0	0.00	0	0	0.00
46	Amravati Commr.	**3.98**	39	40	9.80	0	0	0.00	0	0	0.00	0	0	0.00
*	**Total Commrs.**	**155.24**	**1682**	**1721**	**10.83**	**0**	**0**	**0.00**	**0**	**0**	**0.00**	**0**	**0**	**0.00**
*	**Total of M.S**	**567.98**	**4144**	**4189**	**7.30**	**0**	**0**	**0.00**	**0**	**0**	**0.00**	**0**	**0**	**0.00**

तक्ता क्र. २३ (चालू)

Table No. 23 (Contd.)

Sr. No.	UNIT	Rape (Section 376 IPC) (concluded)								
		Rape other than Custodial								
		Rape other than Custodial (Total)			Gang Rape			Other Rape		
		I	V	R	I	V	R	I	V	R
1	2	16	17	18	19	20	21	22	23	24
1	Akola	44	44	4.84	2	2	0.22	42	42	4.62
2	Amravati Rural	122	122	11.67	9	9	0.86	113	113	10.81
3	Buldhana	63	63	4.88	3	3	0.23	60	60	4.64
4	Yavatmal	98	98	6.85	0	0	0.00	98	98	6.85
5	Washim	30	30	4.90	2	2	0.33	28	28	4.57
*	**Amravati Range**	**357**	**357**	**6.75**	**16**	**16**	**0.30**	**341**	**341**	**6.44**
6	Aurangabad Rural	45	45	3.98	4	4	0.35	41	41	3.62
7	Jalna	47	47	4.62	3	3	0.29	44	44	4.32
8	Beed	78	79	5.90	4	4	0.30	74	75	5.60
9	Osmanabad	54	54	6.45	3	3	0.36	51	51	6.09
*	**Aurangabad Range**	**224**	**225**	**5.20**	**14**	**14**	**0.32**	**210**	**211**	**4.87**
10	Nanded	70	70	4.03	11	11	0.63	59	59	3.40
11	Latur	54	54	4.29	1	1	0.08	53	53	4.21
12	Parbhani	44	44	4.58	2	2	0.21	42	42	4.37
13	Hingoli	22	22	3.63	3	3	0.49	19	19	3.13
*	**Nanded Range**	**190**	**190**	**4.16**	**17**	**17**	**0.37**	**173**	**173**	**3.79**
14	Kolhapur	93	93	4.67	2	2	0.10	91	91	4.57
15	Pune Rural	181	181	8.53	3	3	0.14	178	178	8.38
16	Sangli	67	68	4.57	1	1	0.07	66	67	4.50
17	Satara	114	114	7.29	4	4	0.26	110	110	7.03
18	Solapur Rural	109	110	6.41	3	3	0.18	106	107	6.24
*	**Kolhapur Range**	**564**	**566**	**6.38**	**13**	**13**	**0.15**	**551**	**553**	**6.23**
19	Bhandara	25	26	4.01	1	1	0.16	24	25	3.85
20	Chandrapur	126	126	11.13	8	8	0.71	118	118	10.43
21	Nagpur Rural	84	84	7.80	3	3	0.28	81	81	7.52
22	Wardha	60	60	9.06	7	7	1.06	53	53	8.00
*	**Nagpur Range**	**295**	**296**	**8.44**	**19**	**19**	**0.54**	**276**	**277**	**7.90**
23	Gadchiroli	41	41	7.32	2	2	0.36	39	39	6.97
24	Gondia	56	56	8.06	2	2	0.29	54	54	7.77
*	**Gadchiroli Range**	**97**	**97**	**7.73**	**4**	**4**	**0.32**	**93**	**93**	**7.41**
25	Ahmednagar	106	106	4.65	4	4	0.18	102	102	4.48
26	Dhule	35	35	3.31	2	2	0.19	33	33	3.12
27	Jalgaon	66	66	3.05	1	1	0.05	65	65	3.00
28	Nasik Rural	103	104	4.52	3	3	0.13	100	101	4.39
29	Nandurbar	25	25	2.88	0	0	0.00	25	25	2.88
*	**Nasik Range**	**335**	**336**	**3.87**	**10**	**10**	**0.12**	**325**	**326**	**3.76**
30	Raigad	88	88	9.40	3	3	0.32	85	85	9.08
31	Ratnagiri	48	48	5.62	0	0	0.00	48	48	5.62
32	Sindhudurg	28	28	6.47	2	2	0.46	26	26	6.00
33	Thane Rural	86	86	7.61	2	2	0.18	84	84	7.43
34	Palghar	135	136	8.92	3	3	0.20	132	133	8.72
*	**Thane Range**	**385**	**386**	**7.91**	**10**	**10**	**0.21**	**375**	**376**	**7.71**
35	Mumbai Railway	5	5	-	0	0	-	5	5	-
36	Pune Railway	4	4	-	0	0	-	4	4	-
37	Nagpur Railway	6	6	-			-	6	6	-
*	**Railway Range**	**15**	**15**	**-**	**0**	**0**	**-**	**15**	**15**	**-**
38	Nagpur Commr.	166	183	12.69	6	6	0.46	160	177	12.23
39	Pune Commr.	266	270	9.91	2	2	0.07	264	268	9.83
40	Thane Commr.	251	251	10.68	5	5	0.21	246	246	10.47
41	Mumbai Commr.	712	724	12.29	14	14	0.24	698	710	12.05
42	Nasik Commr.	30	30	3.76	1	1	0.13	29	29	3.63
43	Aurangabad Commr.	65	65	8.64	6	6	0.80	59	59	7.85
44	Solapur Commr.	49	49	9.77	2	2	0.40	47	47	9.37
45	Navi Mumbai	104	109	11.10	2	2	0.21	102	107	10.89
46	Amravati Commr.	39	40	9.80	0	0	0.00	39	40	9.80
*	**Total Commrs.**	**1682**	**1721**	**10.83**	**38**	**38**	**0.24**	**1644**	**1683**	**10.59**
*	**Total of M.S**	**4144**	**4189**	**7.30**	**141**	**141**	**0.25**	**4003**	**4048**	**7.05**

तक्ता क्र. २३ (चालू)

Table No. 23 (Contd.)

Sr. No.	UNIT	Attempt to Commit Rape			Kidnapping & Abduction (Section 363,364,364A, 366 IPC) of Women								
					K & A of women (Total)			K & A (Section 363 IPC) of female			K&A in order to Murder (Section 364 IPC) of female		
		I	V	R	I	V	R	I	V	R	I	V	R
1	2	25	26	27	28	29	30	31	32	33	34	35	36
1	Akola	0	0	0.00	47	48	5.16	34	35	3.74	0	0	0.00
2	Amravati Rural	0	0	0.00	113	113	10.81	20	20	1.91	0	0	0.00
3	Buldhana	0	0	0.00	21	21	1.63	5	5	0.39	0	0	0.00
4	Yavatmal	2	2	0.14	115	119	8.03	38	42	2.65	0	0	0.00
5	Washim	0	0	0.00	34	36	5.55	13	15	2.12	0	0	0.00
*	**Amravati Range**	**2**	**2**	**0.04**	**330**	**337**	**6.24**	**110**	**117**	**2.08**	**0**	**0**	**0.00**
6	Aurangabad Rural	0	0	0.00	43	43	3.80	12	12	1.06	2	2	0.18
7	Jalna	0	0	0.00	69	70	6.78	13	14	1.28	0	0	0.00
8	Beed	0	0	0.00	60	62	4.54	17	18	1.29	0	0	0.00
9	Osmanabad	0	0	0.00	46	47	5.49	15	16	1.79	0	0	0.00
*	**Aurangabad Range**	**0**	**0**	**0.00**	**218**	**222**	**5.06**	**57**	**60**	**1.32**	**2**	**2**	**0.05**
10	Nanded	0	0	0.00	61	68	3.51	0	0	0.00	0	0	0.00
11	Latur	0	0	0.00	68	92	5.40	0	0	0.00	0	0	0.00
12	Parbhani	0	0	0.00	40	40	4.17	26	26	2.71	1	1	0.10
13	Hingoli	0	0	0.00	25	28	4.12	17	20	2.80	0	0	0.00
*	**Nanded Range**	**0**	**0**	**0.00**	**194**	**228**	**4.25**	**43**	**46**	**0.94**	**1**	**1**	**0.02**
14	Kolhapur	0	0	0.00	158	158	7.93	9	9	0.45	0	0	0.00
15	Pune Rural	0	0	0.00	170	314	8.01	95	233	4.47	0	0	0.00
16	Sangli	0	0	0.00	95	97	6.48	37	37	2.52	0	0	0.00
17	Satara	1	1	0.06	150	152	9.59	104	106	6.65	0	0	0.00
18	Solapur Rural	2	2	0.12	85	85	5.00	38	38	2.24	0	0	0.00
*	**Kolhapur Range**	**3**	**3**	**0.03**	**658**	**806**	**7.44**	**283**	**423**	**3.20**	**0**	**0**	**0.00**
19	Bhandara	0	0	0.00	52	56	8.34	41	44	6.58	0	0	0.00
20	Chandrapur	1	1	0.09	99	103	8.75	0	0	0.00	0	0	0.00
21	Nagpur Rural	0	0	0.00	62	62	5.76	46	46	4.27	0	0	0.00
22	Wardha	0	0	0.00	56	56	8.46	30	30	4.53	0	0	0.00
*	**Nagpur Range**	**1**	**1**	**0.03**	**269**	**277**	**7.70**	**117**	**120**	**3.35**	**0**	**0**	**0.00**
23	Gadchiroli	1	1	0.18	18	21	3.22	2	2	0.36	0	0	0.00
24	Gondia	0	0	0.00	55	55	7.91	35	35	5.04	0	0	0.00
*	**Gadchiroli Range**	**1**	**1**	**0.08**	**73**	**76**	**5.82**	**37**	**37**	**2.95**	**0**	**0**	**0.00**
25	Ahmednagar	1	1	0.04	148	154	6.50	62	68	2.72	0	0	0.00
26	Dhule	0	0	0.00	24	24	2.27	0	0	0.00	0	0	0.00
27	Jalgaon	1	1	0.05	88	88	4.06	0	0	0.00	0	0	0.00
28	Nasik Rural	0	0	0.00	119	135	5.22	58	74	2.55	0	0	0.00
29	Nandurbar	0	0	0.00	22	25	2.53	10	13	1.15	0	0	0.00
*	**Nasik Range**	**2**	**2**	**0.02**	**401**	**426**	**4.64**	**130**	**155**	**1.50**	**0**	**0**	**0.00**
30	Raigad	3	3	0.32	50	50	5.34	49	49	5.24	0	0	0.00
31	Ratnagiri	0	0	0.00	28	30	3.28	27	29	3.16	0	0	0.00
32	Sindhudurg	0	0	0.00	13	13	3.00	2	2	0.46	0	0	0.00
33	Thane Rural	0	0	0.00	106	113	9.38	79	86	6.99	0	0	0.00
34	Palghar	0	0	0.00	249	251	16.46	231	231	15.27	0	0	0.00
*	**Thane Range**	**3**	**3**	**0.06**	**446**	**457**	**3.01**	**388**	**397**	**1.95**	**0**	**0**	**0.00**
35	Mumbai Railway	0	0		16	17		16	17		0	0	
36	Pune Railway	0	0		5	6		4	5		0	0	
37	Nagpur Railway	0	0		5	5		0	0		0	0	
*	**Railway Range**	**0**	**0**		**26**	**28**		**20**	**22**		**0**	**0**	
38	Nagpur Commr.	1	1	0.08	229	240	17.51	192	196	14.68	0	0	0.00
39	Pune Commr.	0	0	0.00	466	500	17.35	336	353	12.51	0	0	0.00
40	Thane Commr.	0	0	0.00	398	398	16.94	318	318	13.53	0	0	0.00
41	Mumbai Commr.	0	0	0.00	904	925	15.60	852	873	14.70	0	0	0.00
42	Nasik Commr.	0	0	0.00	107	113	13.41	104	109	13.03	0	0	0.00
43	Aurangabad Commr.	0	0	0.00	90	93	11.97	51	54	6.78	0	0	0.00
44	Solapur Commr.	0	0	0.00	59	59	11.76	18	18	3.59	0	0	0.00
45	Navi Mumbai	0	0	0.00	163	168	17.40	161	166	17.18	0	0	0.00
46	Amravati Commr.	0	0	0.00	65	68	16.33	46	49	11.56	0	0	0.00
*	**Total Commrs.**	**1**	**1**	**0.01**	**2481**	**2564**	**15.98**	**2078**	**2136**	**13.39**	**0**	**0**	**0.00**
*	**Total of M.S**	**13**	**13**	**0.02**	**5096**	**5421**	**8.97**	**3263**	**3513**	**5.74**	**3**	**3**	**0.01**

तक्ता क्र. २३ (चालू)

Table No. 23 (Contd.)

Sr. No.	UNIT	Kidnapping & Abduction (Section 363,364,364A, 366 IPC) of Women								
		Kidnapping for Ransom etc.(Section 364A IPC) of female			K & A of Women to compel her for marriage, etc (Section 366 IPC)			K & A (Female) Others		
		I	V	R	I	V	R	I	V	R
1	2	37	38	39	40	41	42	43	44	45
1	Akola	0	0	0.00	12	12	1.32	1	1	0.11
2	Amravati Rural	0	0	0.00	93	93	8.90	0	0	0.00
3	Buldhana	0	0	0.00	16	16	1.24	0	0	0.00
4	Yavatmal	0	0	0.00	76	76	5.31	1	1	0.07
5	Washim	0	0	0.00	20	20	3.26	1	1	0.16
*	**Amravati Range**	**0**	**0**	**0.00**	**217**	**217**	**4.10**	**3**	**3**	**0.06**
6	Aurangabad Rural	0	0	0.00	20	20	1.77	9	9	0.80
7	Jalna	4	4	0.39	25	25	2.46	27	27	2.65
8	Beed	0	0	0.00	29	29	2.19	14	15	1.06
9	Osmanabad	0	0	0.00	28	28	3.34	3	3	0.36
*	**Aurangabad Range**	**4**	**4**	**0.09**	**102**	**102**	**2.37**	**53**	**54**	**1.23**
10	Nanded	0	0	0.00	48	48	2.76	13	20	0.75
11	Latur	0	0	0.00	58	58	4.60	10	34	0.79
12	Parbhani	0	0	0.00	11	11	1.15	2	2	0.21
13	Hingoli	0	0	0.00	5	5	0.82	3	3	0.49
*	**Nanded Range**	**0**	**0**	**0.00**	**122**	**122**	**2.67**	**28**	**59**	**0.61**
14	Kolhapur	0	0	0.00	90	90	4.52	59	59	2.96
15	Pune Rural	0	0	0.00	44	50	2.07	31	31	1.46
16	Sangli	0	0	0.00	45	45	3.07	13	15	0.89
17	Satara	0	0	0.00	45	45	2.88	1	1	0.06
18	Solapur Rural	0	0	0.00	46	46	2.71	1	1	0.06
*	**Kolhapur Range**	**0**	**0**	**0.00**	**270**	**276**	**3.05**	**105**	**107**	**1.19**
19	Bhandara	0	0	0.00	10	11	1.60	1	1	0.16
20	Chandrapur	1	1	0.09	49	52	4.33	49	50	4.33
21	Nagpur Rural	0	0	0.00	16	16	1.49	0	0	0.00
22	Wardha	0	0	0.00	26	26	3.93	0	0	0.00
*	**Nagpur Range**	**1**	**1**	**0.03**	**101**	**105**	**2.89**	**50**	**51**	**1.43**
23	Gadchiroli	0	0	0.00	15	16	2.68	1	3	0.18
24	Gondia	0	0	0.00	10	10	1.44	10	10	1.44
*	**Gadchiroli Range**	**0**	**0**	**0.00**	**25**	**26**	**1.99**	**11**	**13**	**0.88**
25	Ahmednagar	0	0	0.00	77	77	3.38	9	9	0.40
26	Dhule	0	0	0.00	10	10	0.95	14	14	1.32
27	Jalgaon	0	0	0.00	88	88	4.06	0	0	0.00
28	Nasik Rural	0	0	0.00	60	60	2.63	1	1	0.04
29	Nandurbar	0	0	0.00	12	12	1.38	0	0	0.00
*	**Nasik Range**	**0**	**0**	**0.00**	**247**	**247**	**2.86**	**24**	**24**	**0.28**
30	Raigad	0	0	0.00	0	0	0.00	1	1	0.11
31	Ratnagiri	0	0	0.00	0	0	0.00	1	1	0.12
32	Sindhudurg	0	0	0.00	6	6	1.39	5	5	1.15
33	Thane Rural	1	1	0.09	0	0	0.00	27	27	2.39
34	Palghar	0	0	0.00	1	1	0.07	16	18	1.06
*	**Thane Range**	**1**	**1**	**0.02**	**7**	**7**	**0.14**	**50**	**52**	**1.03**
35	Mumbai Railway	0	0		0	0		0	0	
36	Pune Railway	1	1		0	0		0	0	
37	Nagpur Railway	0	0		0	0		5	5	
*	**Railway Range**	**1**	**1**		**0**	**0**		**5**	**5**	
38	Nagpur Commr.	0	0	0.00	37	44	2.83	0	0	0.00
39	Pune Commr.	0	0	0.00	40	41	1.49	90	106	3.35
40	Thane Commr.	0	0	0.00	7	7	0.30	73	73	3.11
41	Mumbai Commr.	0	0	0.00	13	13	0.22	39	39	0.67
42	Nasik Commr.	0	0	0.00	3	4	0.38	0	0	0.00
43	Aurangabad Commr.	1	1	0.13	19	19	2.53	19	19	2.53
44	Solapur Commr.	0	0	0.00	41	41	8.17	0	0	0.00
45	Navi Mumbai	0	0	0.00	1	1	0.11	1	1	0.11
46	Amravati Commr.	0	0	0.00	18	18	4.52	1	1	0.25
*	**Total Commrs.**	**1**	**1**	**0.01**	**179**	**188**	**1.15**	**223**	**239**	**1.44**
*	**Total of M.S**	**8**	**8**	**0.01**	**1270**	**1290**	**2.24**	**552**	**607**	**0.97**

तक्ता क्र. २३ (चालू)

Table No. 23 (Contd.)

Sr. No.	UNIT	Dowry Deaths (Section 304-B IPC)			Assault on Women with intent to outrage her Modesty (Section 354 IPC)					
					Assault on Women with intent to outrage her Modesty (Section 354 IPC) Total			Sexual Harassment (Section 354A IPC)		
		I	V	R	I	V	R	I	V	R
1	2	46	47	48	49	50	51	52	53	54
1	Akola	4	4	0.44	222	222	24.40	111	111	12.20
2	Amravati Rural	3	3	0.29	418	418	40.00	163	163	15.60
3	Buldhana	14	14	1.08	266	268	20.59	189	189	14.63
4	Yavatmal	15	15	1.05	458	458	31.99	220	220	15.37
5	Washim	12	12	1.96	206	207	33.62	206	207	33.62
*	**Amravati Range**	**48**	**48**	**0.91**	**1570**	**1573**	**29.67**	**889**	**890**	**16.80**
6	Aurangabad Rural	18	18	1.59	242	242	21.38	96	96	8.48
7	Jalna	11	11	1.08	191	191	18.76	143	143	14.05
8	Beed	5	5	0.38	263	263	19.90	145	145	10.97
9	Osmanabad	6	6	0.72	106	106	12.65	58	58	6.92
*	**Aurangabad Range**	**40**	**40**	**0.93**	**802**	**802**	**18.61**	**442**	**442**	**10.26**
10	Nanded	12	12	0.69	165	165	9.50	165	165	9.50
11	Latur	8	8	0.64	155	155	12.31	0	0	0.00
12	Parbhani	11	11	1.15	153	153	15.94	94	94	9.79
13	Hingoli	1	1	0.16	91	91	15.00	46	46	7.58
*	**Nanded Range**	**32**	**32**	**0.70**	**564**	**564**	**12.36**	**305**	**305**	**6.69**
14	Kolhapur	7	7	0.35	219	219	10.99	79	79	3.96
15	Pune Rural	5	5	0.24	508	508	23.93	87	87	4.10
16	Sangli	16	16	1.09	171	184	11.66	31	31	2.11
17	Satara	2	2	0.13	274	274	17.51	98	98	6.26
18	Solapur Rural	8	8	0.47	251	251	14.77	113	113	6.65
*	**Kolhapur Range**	**38**	**38**	**0.43**	**1423**	**1436**	**16.09**	**408**	**408**	**4.61**
19	Bhandara	0	0	0.00	92	92	14.76	51	51	8.18
20	Chandrapur	10	10	0.88	269	269	23.77	0	0	0.00
21	Nagpur Rural	1	1	0.09	167	167	15.50	84	84	7.80
22	Wardha	0	0	0.00	243	243	36.70	96	96	14.50
*	**Nagpur Range**	**11**	**11**	**0.31**	**771**	**771**	**22.06**	**231**	**231**	**6.61**
23	Gadchiroli	1	1	0.18	40	40	7.15	13	13	2.32
24	Gondia	0	0	0.00	118	118	16.98	68	68	9.78
*	**Gadchiroli Range**	**1**	**1**	**0.08**	**158**	**158**	**12.59**	**81**	**81**	**6.46**
25	Ahmednagar	14	14	0.61	376	376	16.51	115	115	5.05
26	Dhule	6	6	0.57	69	69	6.52	0	0	0.00
27	Jalgaon	1	1	0.05	288	289	13.29	199	200	9.19
28	Nasik Rural	14	14	0.61	252	257	11.06	214	215	9.39
29	Nandurbar	0	0	0.00	41	41	4.72	26	26	2.99
*	**Nasik Range**	**35**	**35**	**0.40**	**1026**	**1032**	**11.86**	**554**	**556**	**6.40**
30	Raigad	1	1	0.11	108	108	11.54	39	39	4.17
31	Ratnagiri	1	1	0.12	60	64	7.03	21	21	2.46
32	Sindhudurg	0	0	0.00	38	38	8.78	13	13	3.00
33	Thane Rural	2	2	0.18	176	176	15.58	26	26	2.30
34	Palghar	2	2	0.13	226	226	14.94	34	34	2.25
*	**Thane Range**	**6**	**6**	**0.12**	**608**	**612**	**12.50**	**133**	**133**	**2.73**
35	Mumbai Railway	0	0		89	89		23	23	
36	Pune Railway	0	0		13	13		3	3	
37	Nagpur Railway	0	0		20	20		0	0	
*	**Railway Range**	**0**	**0**		**122**	**122**		**26**	**26**	
38	Nagpur Commr.	9	9	0.69	392	392	29.97	158	158	12.08
39	Pune Commr.	17	17	0.63	705	716	26.25	295	297	10.99
40	Thane Commr.	7	7	0.30	564	564	24.00	209	209	8.89
41	Mumbai Commr.	9	9	0.16	2008	2025	34.66	720	722	12.43
42	Nasik Commr.	1	1	0.13	106	106	13.28	31	31	3.88
43	Aurangabad Commr.	3	3	0.40	383	383	50.93	125	125	16.62
44	Solapur Commr.	1	1	0.20	81	81	16.15	24	24	4.78
45	Navi Mumbai	9	9	0.96	202	204	21.56	54	54	5.76
46	Amravati Commr.	1	1	0.25	228	228	57.30	66	66	16.59
*	**Total Commrs.**	**57**	**57**	**0.37**	**4669**	**4699**	**30.08**	**1682**	**1686**	**10.83**
*	**Total of M.S**	**268**	**268**	**0.47**	**11713**	**11769**	**20.62**	**4751**	**4758**	**8.36**

तक्ता क्र. २३ (चालू)

Table No. 23 (Contd.)

Sr. No.	UNIT	Assault on Women with intent to outrage her Modesty (Section 354 IPC)											
		Assault or use of criminal force to women with intent to Disrobe (Section 354B IPC)			Voyeurism (Section 354C IPC)			Stalking (Section 354D IPC)			Others		
		I	V	R	I	V	R	I	V	R	I	V	R
1	2	55	56	57	58	59	60	61	62	63	64	65	66
1	Akola	17	17	1.87	3	3	0.33	16	16	1.76	75	75	8.24
2	Amravati Rural	25	25	2.39	6	6	0.57	76	76	7.27	148	148	14.16
3	Buldhana	24	24	1.86	6	6	0.46	20	20	1.55	27	29	2.09
4	Yavatmal	37	37	2.58	2	2	0.14	32	32	2.24	167	167	11.66
5	Washim	0	0	0.00	0	0	0.00	0	0	0.00	0	0	0.00
*	**Amravati Range**	**103**	**103**	**1.95**	**17**	**17**	**0.32**	**144**	**144**	**2.72**	**417**	**419**	**7.88**
6	Aurangabad Rural	22	22	1.94	2	2	0.18	27	27	2.39	95	95	8.39
7	Jalna	0	0	0.00	0	0	0.00	0	0	0.00	48	48	4.72
8	Beed	13	13	0.98	0	0	0.00	19	19	1.44	86	86	6.51
9	Osmanabad	6	6	0.72	2	2	0.24	16	16	1.91	24	24	2.87
*	**Aurangabad Range**	**41**	**41**	**0.95**	**4**	**4**	**0.09**	**62**	**62**	**1.44**	**253**	**253**	**5.87**
10	Nanded	0	0	0.00	0	0	0.00	0	0	0.00	0	0	0.00
11	Latur	0	0	0.00	0	0	0.00	0	0	0.00	155	155	12.31
12	Parbhani	10	10	1.04	0	0	0.00	15	15	1.56	34	34	3.54
13	Hingoli	2	2	0.33	0	0	0.00	5	5	0.82	38	38	6.27
*	**Nanded Range**	**12**	**12**	**0.26**	**0**	**0**	**0.00**	**20**	**20**	**0.44**	**227**	**227**	**4.98**
14	Kolhapur	8	8	0.40	2	2	0.10	21	21	1.05	109	109	5.47
15	Pune Rural	15	15	0.71	6	6	0.28	44	44	2.07	356	356	16.77
16	Sangli	0	0	0.00	1	1	0.07	18	18	1.23	121	134	8.25
17	Satara	15	15	0.96	2	2	0.13	56	56	3.58	103	103	6.58
18	Solapur Rural	21	21	1.24	3	3	0.18	46	46	2.71	68	68	4.00
*	**Kolhapur Range**	**59**	**59**	**0.67**	**14**	**14**	**0.16**	**185**	**185**	**2.09**	**757**	**770**	**8.56**
19	Bhandara	3	3	0.48	2	2	0.32	19	19	3.05	17	17	2.73
20	Chandrapur	0	0	0.00	0	0	0.00	0	0	0.00	269	269	23.77
21	Nagpur Rural	8	8	0.74	1	1	0.09	11	11	1.02	63	63	5.85
22	Wardha	13	13	1.96	1	1	0.15	25	25	3.78	108	108	16.31
*	**Nagpur Range**	**24**	**24**	**0.69**	**4**	**4**	**0.11**	**55**	**55**	**1.57**	**457**	**457**	**13.08**
23	Gadchiroli	2	2	0.36	0	0	0.00	2	2	0.36	23	23	4.11
24	Gondia	0	0	0.00	0	0	0.00	0	0	0.00	50	50	7.19
*	**Gadchiroli Range**	**2**	**2**	**0.16**	**0**	**0**	**0.00**	**2**	**2**	**0.16**	**73**	**73**	**5.82**
25	Ahmednagar	8	8	0.35	8	8	0.35	13	13	0.57	232	232	10.18
26	Dhule	0	0	0.00	0	0	0.00	0	0	0.00	69	69	6.52
27	Jalgaon	0	0	0.00	0	0	0.00	0	0	0.00	89	89	4.11
28	Nasik Rural	1	1	0.04	1	1	0.04	2	2	0.09	34	38	1.49
29	Nandurbar	0	0	0.00	0	0	0.00	2	2	0.23	13	13	1.50
*	**Nasik Range**	**9**	**9**	**0.10**	**9**	**9**	**0.10**	**17**	**17**	**0.20**	**437**	**441**	**5.05**
30	Raigad	3	3	0.32	2	2	0.21	30	30	3.21	34	34	3.63
31	Ratnagiri	2	2	0.23	2	6	0.23	13	13	1.52	22	22	2.58
32	Sindhudurg	0	0	0.00	0	0	0.00	9	9	2.08	16	16	3.70
33	Thane Rural	7	7	0.62	2	2	0.18	27	27	2.39	114	114	10.09
34	Palghar	8	8	0.53	1	1	0.07	19	19	1.26	164	164	10.84
*	**Thane Range**	**20**	**20**	**0.41**	**7**	**11**	**0.14**	**98**	**98**	**2.01**	**350**	**350**	**7.19**
35	Mumbai Railway	2	2		0	0		9	9		55	55	
36	Pune Railway	0	0		0	0		0	0		10	10	
37	Nagpur Railway	0	0		0	0		0	0		20	20	
*	**Railway Range**	**2**	**2**		**0**	**0**		**9**	**9**		**85**	**85**	
38	Nagpur Commr.	15	15	1.15	6	6	0.46	86	86	6.57	127	127	9.71
39	Pune Commr.	20	22	0.74	7	7	0.26	154	154	5.73	229	236	8.53
40	Thane Commr.	9	9	0.38	5	5	0.21	70	70	2.98	271	271	11.53
41	Mumbai Commr.	80	80	1.38	22	22	0.38	319	321	5.51	867	880	14.96
42	Nasik Commr.	1	1	0.13	0	0	0.00	10	10	1.25	64	64	8.02
43	Aurangabad Commr.	22	22	2.93	18	18	2.39	91	91	12.10	127	127	16.89
44	Solapur Commr.	1	1	0.20	1	1	0.20	9	9	1.79	46	46	9.17
45	Navi Mumbai	12	13	1.28	3	3	0.32	31	31	3.31	102	103	10.89
46	Amravati Commr.	2	2	0.50	3	3	0.75	37	37	9.30	120	120	30.16
*	**Total Commrs.**	**162**	**165**	**1.04**	**65**	**65**	**0.42**	**807**	**809**	**5.20**	**1953**	**1974**	**12.58**
*	**Total of M.S**	**434**	**437**	**0.76**	**120**	**124**	**0.21**	**1399**	**1401**	**2.46**	**5009**	**5049**	**8.82**

तक्ता क्र. २३ (चालू)

Table No. 23 (Contd.)

Sr. No.	UNIT	Insult to the Modesty of Women (Section 509 IPC)											
		Insult to the Modesty of Women (Section 509 IPC) Total			At Office premises			Other places related to work			In Public Transport system		
		I	V	R	I	V	R	I	V	R	I	V	R
1	2	67	68	69	70	71	72	73	74	75	76	77	78
1	Akola	6	6	0.66	0	0	0.00	0	0	0.00	0	0	0.00
2	Amravati Rural	9	9	0.86	0	0	0.00	0	0	0.00	0	0	0.00
3	Buldhana	24	24	1.86	3	3	0.23	5	5	0.39	14	14	1.08
4	Yavatmal	140	140	9.78	0	0	0.00	59	59	4.12	0	0	0.00
5	Washim	4	4	0.65	0	0	0.00	0	0	0.00	0	0	0.00
*	**Amravati Range**	**183**	**183**	**3.46**	**3**	**3**	**0.06**	**64**	**64**	**1.21**	**14**	**14**	**0.26**
6	Aurangabad Rural	5	5	0.44	0	0	0.00	0	0	0.00	0	0	0.00
7	Jalna	12	12	1.18	4	4	0.39	5	5	0.49	0	0	0.00
8	Beed	3	3	0.23	0	0	0.00	0	0	0.00	0	0	0.00
9	Osmanabad	1	1	0.12	0	0	0.00	0	0	0.00	0	0	0.00
*	**Aurangabad Range**	**21**	**21**	**0.49**	**4**	**4**	**0.09**	**5**	**5**	**0.12**	**0**	**0**	**0.00**
10	Nanded	4	4	0.23	0	0	0.00	0	0	0.00	0	0	0.00
11	Latur	1	1	0.08	0	0	0.00	0	0	0.00	0	0	0.00
12	Parbhani	1	1	0.10	0	0	0.00	0	0	0.00	0	0	0.00
13	Hingoli	3	3	0.49	0	0	0.00	0	0	0.00	0	0	0.00
*	**Nanded Range**	**9**	**9**	**0.20**	**0**	**0**	**0.00**	**0**	**0**	**0.00**	**0**	**0**	**0.00**
14	Kolhapur	2	2	0.10	0	0	0.00	0	0	0.00	0	0	0.00
15	Pune Rural	28	28	1.32	0	0	0.00	0	0	0.00	0	0	0.00
16	Sangli	4	4	0.27	0	0	0.00	0	0	0.00	0	0	0.00
17	Satara	18	18	1.15	0	0	0.00	0	0	0.00	0	0	0.00
18	Solapur Rural	2	2	0.12	0	0	0.00	0	0	0.00	0	0	0.00
*	**Kolhapur Range**	**54**	**54**	**0.61**	**0**	**0**	**0.00**	**0**	**0**	**0.00**	**0**	**0**	**0.00**
19	Bhandara	8	8	1.28	2	2	0.32	0	0	0.00	0	0	0.00
20	Chandrapur	11	11	0.97	0	0	0.00	0	0	0.00	0	0	0.00
21	Nagpur Rural	16	16	1.49	0	0	0.00	0	0	0.00	0	0	0.00
22	Wardha	4	4	0.60	0	0	0.00	0	0	0.00	0	0	0.00
*	**Nagpur Range**	**39**	**39**	**1.12**	**2**	**2**	**0.06**	**0**	**0**	**0.00**	**0**	**0**	**0.00**
23	Gadchiroli	6	6	1.07	0	0	0.00	0	0	0.00	0	0	0.00
24	Gondia	4	4	0.58	0	0	0.00	0	0	0.00	0	0	0.00
*	**Gadchiroli Range**	**10**	**10**	**0.80**	**0**	**0**	**0.00**	**0**	**0**	**0.00**	**0**	**0**	**0.00**
25	Ahmednagar	7	7	0.31	0	0	0.00	0	0	0.00	0	0	0.00
26	Dhule	7	7	0.66	0	0	0.00	0	0	0.00	0	0	0.00
27	Jalgaon	21	21	0.97	0	0	0.00	0	0	0.00	0	0	0.00
28	Nasik Rural	2	2	0.09	0	0	0.00	1	1	0.04	0	0	0.00
29	Nandurbar	4	4	0.46	0	0	0.00	0	0	0.00	0	0	0.00
	Nasik Range	**41**	**41**	**0.47**	**0**	**0**	**0.00**	**1**	**1**	**0.01**	**0**	**0**	**0.00**
30	Raigad	12	12	1.28	0	0	0.00	0	0	0.00	0	0	0.00
31	Ratnagiri	16	16	1.87	0	0	0.00	0	0	0.00	0	0	0.00
32	Sindhudurg	2	2	0.46	0	0	0.00	0	0	0.00	0	0	0.00
33	Thane Rural	121	121	10.71	0	0	0.00	0	0	0.00	0	0	0.00
34	Palghar	13	13	0.86	0	0	0.00	1	1	0.07	0	0	0.00
*	**Thane Range**	**164**	**164**	**3.37**	**0**	**0**	**0.00**	**1**	**1**	**0.02**	**0**	**0**	**0.00**
35	Mumbai Railway	7	7		0	0		0	0		7	7	
36	Pune Railway	0	0		0	0		0	0		0	0	
37	Nagpur Railway	1	1		0	0		1	1		0	0	
*	**Railway Range**	**8**	**8**		**0**	**0**		**1**	**1**		**7**	**7**	
38	Nagpur Commr.	24	24	1.83	0	0	0.00	0	0	0.00	0	0	0.00
39	Pune Commr.	66	66	2.46	0	0	0.00	18	18	0.67	0	0	0.00
40	Thane Commr.	41	41	1.74	4	4	0.17	5	5	0.21	0	0	0.00
41	Mumbai Commr.	412	414	7.11	14	14	0.24	20	20	0.35	6	6	0.10
42	Nasik Commr.	7	7	0.88	0	0	0.00	0	0	0.00	1	1	0.13
43	Aurangabad Commr.	4	4	0.53	0	0	0.00	0	0	0.00	0	0	0.00
44	Solapur Commr.	4	4	0.80	0	0	0.00	0	0	0.00	0	0	0.00
45	Navi Mumbai	25	25	2.67	0	0	0.00	0	0	0.00	0	0	0.00
46	Amravati Commr.	7	7	1.76	0	0	0.00	0	0	0.00	0	0	0.00
	Total Commrs.	**590**	**592**	**3.80**	**18**	**18**	**0.12**	**43**	**43**	**0.28**	**7**	**7**	**0.05**
*	**Total of M.S**	**1119**	**1121**	**1.97**	**27**	**27**	**0.05**	**115**	**115**	**0.20**	**28**	**28**	**0.05**

तक्ता क्र. २३ (चालू)

Table No. 23 (Contd.)

Sr. No.	UNIT	Insult to the Modesty of Women (Section 509 IPC) Places other than previous columns			Cruelty by Husband and Relatives (Section 498-A IPC)			Importation of Girls From Foreign Country (Section 366-B IPC)upto 21 years		
		I	V	R	I	V	R	I	V	R
1	2	79	80	81	82	83	84	85	86	87
1	Akola	6	6	0.66	144	144	15.82	0	0	0.00
2	Amravati Rural	9	9	0.86	244	244	23.35	0	0	0.00
3	Buldhana	2	2	0.15	140	140	10.84	0	0	0.00
4	Yavatmal	81	81	5.66	262	262	18.30	0	0	0.00
5	Washim	4	4	0.65	127	127	20.73	0	0	0.00
*	**Amravati Range**	**102**	**102**	**1.93**	**917**	**917**	**17.33**	**0**	**0**	**0.00**
6	Aurangabad Rural	5	5	0.44	185	185	16.35	0	0	0.00
7	Jalna	3	3	0.29	263	263	25.84	0	0	0.00
8	Beed	3	3	0.23	362	362	27.39	0	0	0.00
9	Osmanabad	1	1	0.12	109	109	13.01	0	0	0.00
*	**Aurangabad Range**	**12**	**12**	**0.28**	**919**	**919**	**21.33**	**0**	**0**	**0.00**
10	Nanded	4	4	0.23	213	213	12.27	0	0	0.00
11	Latur	1	1	0.08	205	205	16.28	0	0	0.00
12	Parbhani	1	1	0.10	205	205	21.35	0	0	0.00
13	Hingoli	3	3	0.49	65	65	10.72	0	0	0.00
*	**Nanded Range**	**9**	**9**	**0.20**	**688**	**688**	**15.08**	**0**	**0**	**0.00**
14	Kolhapur	2	2	0.10	128	128	6.42	0	0	0.00
15	Pune Rural	28	28	1.32	211	211	9.94	0	0	0.00
16	Sangli	4	4	0.27	103	106	7.02	0	0	0.00
17	Satara	18	18	1.15	155	155	9.91	0	0	0.00
18	Solapur Rural	2	2	0.12	113	113	6.65	0	0	0.00
*	**Kolhapur Range**	**54**	**54**	**0.61**	**710**	**713**	**8.03**	**0**	**0**	**0.00**
19	Bhandara	6	6	0.96	41	41	6.58	0	0	0.00
20	Chandrapur	11	11	0.97	201	201	17.76	0	0	0.00
21	Nagpur Rural	16	16	1.49	61	61	5.66	0	0	0.00
22	Wardha	4	4	0.60	67	67	10.12	0	0	0.00
*	**Nagpur Range**	**37**	**37**	**1.06**	**370**	**370**	**10.59**	**0**	**0**	**0.00**
23	Gadchiroli	6	6	1.07	13	13	2.32	0	0	0.00
24	Gondia	4	4	0.58	38	38	5.47	0	0	0.00
*	**Gadchiroli Range**	**10**	**10**	**0.80**	**51**	**51**	**4.06**	**0**	**0**	**0.00**
25	Ahmednagar	7	7	0.31	243	243	10.67	0	0	0.00
26	Dhule	7	7	0.66	200	200	18.91	0	0	0.00
27	Jalgaon	21	21	0.97	276	276	12.74	0	0	0.00
28	Nasik Rural	1	1	0.04	440	440	19.31	0	0	0.00
29	Nandurbar	4	4	0.46	38	38	4.37	0	0	0.00
*	**Nasik Range**	**40**	**40**	**0.46**	**1197**	**1197**	**13.84**	**0**	**0**	**0.00**
30	Raigad	12	12	1.28	50	50	5.34	0	0	0.00
31	Ratnagiri	16	16	1.87	18	18	2.11	0	0	0.00
32	Sindhudurg	2	2	0.46	10	10	2.31	0	0	0.00
33	Thane Rural	121	121	10.71	137	137	12.12	0	0	0.00
34	Palghar	12	12	0.79	51	51	3.37	0	0	0.00
*	**Thane Range**	**163**	**163**	**1.92**	**266**	**266**	**5.47**	**0**	**0**	**0.00**
35	Mumbai Railway	0	0		0	0		0	0	
36	Pune Railway	0	0		0	0		0	0	
37	Nagpur Railway	0	0		0	0		0	0	
*	**Railway Range**	**0**	**0**		**0**	**0**		**0**	**0**	
38	Nagpur Commr.	24	24	1.83	309	309	23.62	0	0	0.00
39	Pune Commr.	48	48	1.79	379	380	14.11	0	0	0.00
40	Thane Commr.	32	32	1.36	357	357	15.19	0	0	0.00
41	Mumbai Commr.	372	374	6.42	658	659	11.36	0	0	0.00
42	Nasik Commr.	6	6	0.75	203	203	25.44	0	0	0.00
43	Aurangabad Commr.	4	4	0.53	314	314	41.76	0	0	0.00
44	Solapur Commr.	4	4	0.80	61	61	12.16	0	0	0.00
45	Navi Mumbai	25	25	2.67	89	89	9.50	0	0	0.00
46	Amravati Commr.	7	7	1.76	152	152	38.20	0	0	0.00
*	**Total Commrs.**	**522**	**524**	**3.36**	**2522**	**2524**	**16.25**	**0**	**0**	**0.00**
*	**Total of M.S**	**949**	**951**	**1.67**	**7640**	**7645**	**13.45**	**0**	**0**	**0.00**

तक्ता क्र. २३ (चालू)

Table No. 23 (Contd.)

Sr. No.	UNIT	Abetment of Suicide of Women (Sec 306 IPC)			Dowry Prohibition Act, 1961			Indecent Representation Of Women (Prohibition) Act, 1986		
		I	V	R	I	V	R	I	V	R
1	**2**	**88**	**89**	**90**	**91**	**92**	**93**	**94**	**95**	**96**
1	Akola	19	19	2.09	3	3	0.33	0	0	0.00
2	Amravati Rural	39	39	3.73	0	0	0.00	0	0	0.00
3	Buldhana	37	37	2.86	2	2	0.15	0	0	0.00
4	Yavatmal	19	19	1.33	2	2	0.14	0	0	0.00
5	Washim	12	12	1.96	0	0	0.00	0	0	0.00
*	**Amravati Range**	**126**	**126**	**2.38**	**7**	**7**	**0.13**	**0**	**0**	**0.00**
6	Aurangabad Rural	0	0	0.00	0	0	0.00	0	0	0.00
7	Jalna	12	12	1.18	0	0	0.00	0	0	0.00
8	Beed	49	49	3.71	0	0	0.00	0	0	0.00
9	Osmanabad	6	6	0.72	0	0	0.00	0	0	0.00
*	**Aurangabad Range**	**67**	**67**	**1.55**	**0**	**0**	**0.00**	**0**	**0**	**0.00**
10	Nanded	27	27	1.56	0	0	0.00	0	0	0.00
11	Latur	15	15	1.19	0	0	0.00	0	0	0.00
12	Parbhani	18	18	1.87	1	1	0.10	0	0	0.00
13	Hingoli	7	7	1.15	0	0	0.00	0	0	0.00
*	**Nanded Range**	**67**	**67**	**1.47**	**1**	**1**	**0.02**	**0**	**0**	**0.00**
14	Kolhapur	10	10	0.50	0	0	0.00	0	0	0.00
15	Pune Rural	11	13	0.52	0	0	0.00	0	0	0.00
16	Sangli	36	36	2.46	0	0	0.00	0	0	0.00
17	Satara	38	38	2.43	0	0	0.00	0	0	0.00
18	Solapur Rural	40	40	2.35	0	0	0.00	0	0	0.00
*	**Kolhapur Range**	**135**	**137**	**1.53**	**0**	**0**	**0.00**	**0**	**0**	**0.00**
19	Bhandara	4	4	0.64	0	0	0.00	0	0	0.00
20	Chandrapur	25	25	2.21	7	7	0.62	0	0	0.00
21	Nagpur Rural	21	21	1.95	8	8	0.74	0	0	0.00
22	Wardha	12	12	1.81	1	1	0.15	0	0	0.00
*	**Nagpur Range**	**62**	**62**	**1.77**	**16**	**16**	**0.46**	**0**	**0**	**0.00**
23	Gadchiroli	5	5	0.89	0	0	0.00	0	0	0.00
24	Gondia	5	5	0.72	10	10	1.44	0	0	0.00
*	**Gadchiroli Range**	**10**	**10**	**0.80**	**10**	**10**	**0.80**	**0**	**0**	**0.00**
25	Ahmednagar	54	54	2.37	0	0	0.00	0	0	0.00
26	Dhule	7	7	0.66	0	0	0.00	0	0	0.00
27	Jalgaon	0	0	0.00	1	1	0.05	0	0	0.00
28	Nasik Rural	10	10	0.44	0	0	0.00	0	0	0.00
29	Nandurbar	11	11	1.27	0	0	0.00	0	0	0.00
*	**Nasik Range**	**82**	**82**	**0.95**	**1**	**1**	**0.01**	**0**	**0**	**0.00**
30	Raigad	4	4	0.43	0	0	0.00	0	0	0.00
31	Ratnagiri	0	0	0.00	0	0	0.00	0	0	0.00
32	Sindhudurg	0	0	0.00	0	0	0.00	0	0	0.00
33	Thane Rural	2	2	0.18	0	0	0.00	0	0	0.00
34	Palghar	11	11	0.73	0	0	0.00	0	0	0.00
*	**Thane Range**	**17**	**17**	**0.35**	**0**	**0**	**0.00**	**0**	**0**	**0.00**
35	Mumbai Railway	0	0		0	0		0	0	
36	Pune Railway	2	2		0	0		0	0	
37	Nagpur Railway	0	0		0	0		0	0	
*	**Railway Range**	**2**	**2**		**0**	**0**		**0**	**0**	
38	Nagpur Commr.	31	31	2.37	6	6	0.46	0	0	0.00
39	Pune Commr.	15	15	0.56	0	0	0.00	0	0	0.00
40	Thane Commr.	0	0	0.00	0	0	0.00	0	0	0.00
41	Mumbai Commr.	20	20	0.35	0	0	0.00	0	0	0.00
42	Nasik Commr.	16	16	2.01	0	0	0.00	0	0	0.00
43	Aurangabad Commr.	20	20	2.66	0	0	0.00	0	0	0.00
44	Solapur Commr.	8	8	1.59	0	0	0.00	0	0	0.00
45	Navi Mumbai	16	16	1.71	0	0	0.00	0	0	0.00
46	Amravati Commr.	8	8	2.01	1	1	0.25	0	0	0.00
*	**Total Commrs.**	**134**	**134**	**0.86**	**7**	**7**	**0.05**	**0**	**0**	**0.00**
*	**Total of M.S**	**702**	**704**	**1.24**	**42**	**42**	**0.07**	**0**	**0**	**0.00**

तक्ता क्र. २३ (चालू)

Table No. 23 (Contd.)

Sr. No.	UNIT	Commission of Sati Prevention Act 1987			Protection Of Women From Domestic Violence Act, 2005			Immoral Traffic (Prevention) Act Total		
								Immoral Traffic (P) Act Total		
		I	V	R	I	V	R	I	V	R
1	2	97	98	99	100	101	102	103	104	105
1	Akola	0	0	0.00	0	0	0.00	0	0	0.00
2	Amravati Rural	0	0	0.00	0	0	0.00	0	0	0.00
3	Buldhana	0	0	0.00	0	0	0.00	0	0	0.00
4	Yavatmal	0	0	0.00	1	1	0.07	3	3	0.21
5	Washim	0	0	0.00	0	0	0.00	0	0	0.00
*	**Amravati Range**	**0**	**0**	**0.00**	**1**	**1**	**0.02**	**3**	**3**	**0.06**
6	Aurangabad Rural	0	0	0.00	0	0	0.00	1	1	0.09
7	Jalna	0	0	0.00	0	0	0.00	2	2	0.20
8	Beed	0	0	0.00	0	0	0.00	3	8	0.23
9	Osmanabad	0	0	0.00	1	1	0.12	0	0	0.00
*	**Aurangabad Range**	**0**	**0**	**0.00**	**1**	**1**	**0.02**	**6**	**11**	**0.14**
10	Nanded	0	0	0.00	0	0	0.00	2	4	0.12
11	Latur	0	0	0.00	0	0	0.00	6	6	0.48
12	Parbhani	0	0	0.00	0	0	0.00	0	0	0.00
13	Hingoli	0	0	0.00	0	0	0.00	0	0	0.00
*	**Nanded Range**	**0**	**0**	**0.00**	**0**	**0**	**0.00**	**8**	**10**	**0.18**
14	Kolhapur	0	0	0.00	0	0	0.00	16	19	0.80
15	Pune Rural	0	0	0.00	0	0	0.00	4	4	0.19
16	Sangli	0	0	0.00	0	0	0.00	1	1	0.07
17	Satara	0	0	0.00	0	0	0.00	2	6	0.13
18	Solapur Rural	0	0	0.00	0	0	0.00	0	0	0.00
*	Kolhapur Range	0	0	0.00	0	0	0.00	23	30	0.26
19	Bhandara	0	0	0.00	0	0	0.00	3	3	0.48
20	Chandrapur	0	0	0.00	0	0	0.00	2	2	0.18
21	Nagpur Rural	0	0	0.00	0	0	0.00	0	0	0.00
22	Wardha	0	0	0.00	0	0	0.00	0	0	0.00
*	**Nagpur Range**	**0**	**0**	**0.00**	**0**	**0**	**0.00**	**5**	**5**	**0.14**
23	Gadchiroli	0	0	0.00	0	0	0.00	0	0	0.00
24	Gondia	0	0	0.00	0	0	0.00	0	0	0.00
	Gadchiroli Range	**0**	**0**		**0**	**0**	**0.00**	**0**	**0**	**0.00**
25	Ahmednagar	0	0	0.00	0	0	0.00	4	4	0.18
26	Dhule	0	0	0.00	0	0	0.00	0	0	0.00
27	Jalgaon	0	0	0.00	0	0	0.00	1	7	0.05
28	Nasik Rural	0	0	0.00	0	0	0.00	2	2	0.09
29	Nandurbar	0	0	0.00	0	0	0.00	1	2	0.12
*	**Nasik Range**	**0**	**0**	**0.00**	**0**	**0**	**0.00**	**8**	**15**	**0.09**
30	Raigad	0	0	0.00	0	0	0.00	0	0	0.00
31	Ratnagiri	0	0	0.00	0	0	0.00	0	0	0.00
32	Sindhudurg	0	0	0.00	0	0	0.00	0	0	0.00
33	Thane Rural	0	0	0.00	0	0	0.00	13	13	1.15
34	Palghar	0	0	0.00	1	1	0.07	3	6	0.20
*	**Thane Range**	**0**	**0**	**0.00**	**1**	**1**	**0.02**	**16**	**19**	**0.33**
35	Mumbai Railway	0	0		0	0		0	0	
36	Pune Railway	0	0		0	0		0	0	
37	Nagpur Railway	0	0		0	0		0	0	
	Railway Range	**0**	**0**		**0**	**0**		**0**	**0**	
38	Nagpur Commr.	0	0	0.00	0	0	0.00	135	144	10.32
39	Pune Commr.	0	0	0.00	0	0	0.00	55	74	2.05
40	Thane Commr.	0	0	0.00	0	0	0.00	28	34	1.19
41	Mumbai Commr.	0	0	0.00	5	5	0.09	75	126	1.29
42	Nasik Commr.	0	0	0.00	0	0	0.00	4	9	0.50
43	Aurangabad Commr.	0	0	0.00	0	0	0.00	3	6	0.40
44	Solapur Commr.	0	0	0.00	0	0	0.00	1	1	0.20
45	Navi Mumbai	0	0	0.00	0	0	0.00	11	20	1.17
46	Amravati Commr.	0	0	0.00	0	0	0.00	0	0	0.00
*	**Total Commrs.**	**0**	**0**	**0.00**	**5**	**5**	**0.03**	**312**	**414**	**2.01**
*	**Total of M.S**	**0**	**0**	**0.00**	**8**	**8**	**0.01**	**381**	**507**	**0.67**

तक्ता क्र. २३ (चालू)

Table No. 23 (Contd.)

Sr. No.	UNIT	Immoral Traffic (Prevention) Act Total								
		Under Section 5			Under Section 6			Under Section 7		
		I	V	R	I	V	R	I	V	R
1	2	106	107	108	109	110	111	112	113	114
1	Akola	0	0	0.00	0	0	0.00	0	0	0.00
2	Amravati Rural	0	0	0.00	0	0	0.00	0	0	0.00
3	Buldhana	0	0	0.00	0	0	0.00	0	0	0.00
4	Yavatmal	1	1	0.07	0	0	0.00	0	0	0.00
5	Washim	0	0	0.00	0	0	0.00	0	0	0.00
*	**Amravati Range**	**1**	**1**	**0.02**	**0**	**0**	**0.00**	**0**	**0**	**0.00**
6	Aurangabad Rural	0	0	0.00	0	0	0.00	1	1	0.09
7	Jalna	0	0	0.00	0	0	0.00	0	0	0.00
8	Beed	2	4	0.15	1	4	0.08	0	0	0.00
9	Osmanabad	0	0	0.00	0	0	0.00	0	0	0.00
*	**Aurangabad Range**	**2**	**4**	**0.05**	**1**	**4**	**0.02**	**1**	**1**	**0.02**
10	Nanded	0	0	0.00	0	0	0.00	0	0	0.00
11	Latur	0	0	0.00	0	0	0.00	6	6	0.48
12	Parbhani	0	0	0.00	0	0	0.00	0	0	0.00
13	Hingoli	0	0	0.00	0	0	0.00	0	0	0.00
*	**Nanded Range**	**0**	**0**	**0.00**	**0**	**0**	**0.00**	**6**	**6**	**0.13**
14	Kolhapur	1	1	0.05	0	0	0.00	0	0	0.00
15	Pune Rural	4	4	0.19	0	0	0.00	0	0	0.00
16	Sangli	0	0	0.00	0	0	0.00	0	0	0.00
17	Satara	0	0	0.00	0	0	0.00	2	6	0.13
18	Solapur Rural	0	0	0.00	0	0	0.00	0	0	0.00
*	**Kolhapur Range**	**5**	**5**	**0.06**	**0**	**0**	**0.00**	**2**	**6**	**0.02**
19	Bhandara	0	0	0.00	0	0	0.00	3	3	0.48
20	Chandrapur	0	0	0.00	0	0	0.00	0	0	0.00
21	Nagpur Rural	0	0	0.00	0	0	0.00	0	0	0.00
22	Wardha	0	0	0.00	0	0	0.00	0	0	0.00
*	**Nagpur Range**	**0**	**0**	**0.00**	**0**	**0**	**0.00**	**3**	**3**	**0.09**
23	Gadchiroli	0	0	0.00	0	0	0.00	0	0	0.00
24	Gondia	0	0	0.00	0	0	0.00	0	0	0.00
*	**Gadchiroli Range**	**0**	**0**	**0.00**	**0**	**0**	**0.00**	**0**	**0**	**0.00**
25	Ahmednagar	4	4	0.18	0	0	0.00	0	0	0.00
26	Dhule	0	0	0.00	0	0	0.00	0	0	0.00
27	Jalgaon	0	0	0.00	0	0	0.00	0	0	0.00
28	Nasik Rural	0	0	0.00	2	2	0.09	0	0	0.00
29	Nandurbar	0	0	0.00	0	0	0.00	0	0	0.00
*	**Nasik Range**	**4**	**4**	**0.05**	**2**	**2**	**0.02**	**0**	**0**	**0.00**
30	Raigad	0	0	0.00	0	0	0.00	0	0	0.00
31	Ratnagiri	0	0	0.00	0	0	0.00	0	0	0.00
32	Sindhudurg	0	0	0.00	0	0	0.00	0	0	0.00
33	Thane Rural	0	0	0.00	0	0	0.00	0	0	0.00
34	Palghar	0	0	0.00	0	0	0.00	0	0	0.00
*	**Thane Range**	**0**	**0**	**0.00**	**0**	**0**	**0.00**	**0**	**0**	**0.00**
35	Mumbai Railway	0	0		0	0		0	0	
36	Pune Railway	0	0		0	0		0	0	
37	Nagpur Railway	0	0		0	0		0	0	
*	**Railway Range**	**0**	**0**		**0**	**0**		**0**	**0**	
38	Nagpur Commr.	2	2	0.15	1	2	0.08	28	36	2.14
39	Pune Commr.	46	65	1.71	0	0	0.00	3	3	0.11
40	Thane Commr.	17	23	0.72	0	0	0.00	0	0	0.00
41	Mumbai Commr.	24	74	0.41	0	0	0.00	5	6	0.09
42	Nasik Commr.	3	3	0.38	0	0	0.00	1	6	0.13
43	Aurangabad Commr.	2	5	0.27	0	0	0.00	0	0	0.00
44	Solapur Commr.	0	0	0.00	0	0	0.00	0	0	0.00
45	Navi Mumbai	8	14	0.85	0	0	0.00	0	0	0.00
46	Amravati Commr.	0	0	0.00	0	0	0.00	0	0	0.00
*	**Total Commrs.**	**102**	**186**	**0.66**	**1**	**2**	**0.01**	**37**	**51**	**0.24**
*	**Total of M.S**	**114**	**200**	**0.20**	**4**	**8**	**0.01**	**49**	**67**	**0.09**

तक्ता क्र. २३ (पुर्ण)

Table No. 23 (Concluded)

Sr. No.	UNIT	Immoral Traffic (Prevention) Act Total			Others			Total Crimes against women ((IPC+SLL)		
		Under Section 8								
		I	V	R	I	V	R	I	V	R
1	2	115	116	117	118	119	120	121	122	123
1	Akola	0	0	0.00	0	0	0.00	489	490	53.74
2	Amravati Rural	0	0	0.00	0	0	0.00	948	948	90.72
3	Buldhana	0	0	0.00	0	0	0.00	567	569	43.89
4	Yavatmal	0	0	0.00	2	2	0.14	1115	1119	77.88
5	Washim	0	0	0.00	0	0	0.00	425	428	69.37
*	**Amravati Range**	**0**	**0**	**0.00**	**2**	**2**	**0.04**	**3544**	**3554**	**66.98**
6	Aurangabad Rural	0	0	0.00	0	0	0.00	539	539	47.63
7	Jalna	0	0	0.00	2	2	0.20	607	608	59.63
8	Beed	0	0	0.00	0	0	0.00	823	831	62.27
9	Osmanabad	0	0	0.00	0	0	0.00	329	330	39.27
*	**Aurangabad Range**	**0**	**0**	**0.00**	**2**	**2**	**0.05**	**2298**	**2308**	**53.33**
10	Nanded	0	0	0.00	2	4	0.12	554	563	31.91
11	Latur	0	0	0.00	0	0	0.00	512	536	40.65
12	Parbhani	0	0	0.00	0	0	0.00	473	473	49.27
13	Hingoli	0	0	0.00	0	0	0.00	214	217	35.28
*	**Nanded Range**	**0**	**0**	**0.00**	**2**	**4**	**0.04**	**1753**	**1789**	**38.42**
14	Kolhapur	12	12	0.60	3	6	0.15	633	636	31.77
15	Pune Rural	0	0	0.00	0	0	0.00	1118	1264	52.66
16	Sangli	0	0	0.00	1	1	0.07	493	512	33.62
17	Satara	0	0	0.00	0	0	0.00	754	760	48.19
18	Solapur Rural	0	0	0.00	0	0	0.00	610	611	35.89
*	**Kolhapur Range**	**12**	**12**	**0.14**	**4**	**7**	**0.05**	**3608**	**3783**	**40.78**
19	Bhandara	0	0	0.00	0	0	0.00	225	230	36.09
20	Chandrapur	0	0	0.00	2	2	0.18	751	755	66.36
21	Nagpur Rural	0	0	0.00	0	0	0.00	420	420	38.99
22	Wardha	0	0	0.00	0	0	0.00	443	443	66.90
*	**Nagpur Range**	**0**	**0**	**0.00**	**2**	**2**	**0.06**	**1839**	**1848**	**52.63**
23	Gadchiroli	0	0	0.00	0	0	0.00	125	128	22.33
24	Gondia	0	0	0.00	0	0	0.00	286	286	41.15
*	**Gadchiroli Range**	**0**	**0**	**0.00**	**0**	**0**	**0.00**	**411**	**414**	**32.76**
25	Ahmednagar	0	0	0.00	0	0	0.00	953	959	41.83
26	Dhule	0	0	0.00	0	0	0.00	348	348	32.90
27	Jalgaon	0	0	0.00	1	7	0.05	743	750	34.30
28	Nasik Rural	0	0	0.00	0	0	0.00	942	964	41.34
29	Nandurbar	0	0	0.00	1	2	0.12	142	146	16.34
*	**Nasik Range**	**0**	**0**	**0.00**	**2**	**9**	**0.02**	**3128**	**3167**	**36.16**
30	Raigad	0	0	0.00	0	0	0.00	316	316	33.77
31	Ratnagiri	0	0	0.00	0	0	0.00	171	177	20.02
32	Sindhudurg	0	0	0.00	0	0	0.00	91	91	21.02
33	Thane Rural	0	0	0.00	13	13	1.15	643	650	56.90
34	Palghar	0	0	0.00	3	6	0.20	691	697	45.67
*	**Thane Range**	**0**	**0**	**0.00**	**16**	**19**		**1912**	**1931**	**39.30**
35	Mumbai Railway	0	0		0	0		117	118	
36	Pune Railway	0	0		0	0		24	25	
37	Nagpur Railway	0	0		0	0		32	32	
*	**Railway Range**	**0**	**0**		**0**	**0**		**173**	**175**	
38	Nagpur Commr.	104	104	7.95	0	0	0.00	1302	1339	99.54
39	Pune Commr.	0	0	0.00	6	6	0.22	1969	2038	73.32
40	Thane Commr.	0	0	0.00	11	11	0.47	1646	1652	70.04
41	Mumbai Commr.	15	15	0.26	31	31	0.54	4803	4907	82.90
42	Nasik Commr.	0	0	0.00	0	0	0.00	474	485	59.40
43	Aurangabad Commr.	1	1	0.13	0	0	0.00	882	888	117.29
44	Solapur Commr.	0	0	0.00	1	1	0.20	264	264	52.62
45	Navi Mumbai	1	1	0.11	2	5	0.21	619	640	66.06
46	Amravati Commr.	0	0	0.00	0	0	0.00	501	505	125.90
*	**Total Commrs.**	**121**	**121**	**0.78**	**51**	**54**	**0.33**	**12460**	**12718**	**80.26**
*	**Total of M.S**	**133**	**133**	**0.23**	**81**	**99**	**0.14**	**31126**	**31687**	**54.80**

तक्ता क्र. २४

सन २०१५ मधील घटक-निहाय बलात्काराचे बळी व त्यांचे वयोगटानुसार वर्गीकरण

Table 24

Unit-Wise Victims Of Rape Under Different Age Groups During 2015

Sr. No.	UNIT	Number of Cases reported	Number of Victims								
			Below 6 years	6 yrs & Above – Below 12 years	12 yrs & Above –Below 16 years	16 yrs & Above- Below 18 years	18 yrs & Above – Below 30 years	30 yrs & Above – Below 45 years	45 yrs & Above – Below 60 years	60 yrs & Above	Total victims
1	2	3	4	5	6	7	8	9	10	11	13
1	Akola	44	0	1	8	15	18	2	0	0	44
2	Amravati Rural	122	6	2	20	48	36	9	1	0	122
3	Buldhana	63	2	4	8	14	28	5	0	2	63
4	Yavatmal	98	3	2	13	24	44	12	0	0	98
5	Washim	30	0	0	0	14	9	6	1	0	30
*	**Amravati Range**	**357**	**11**	**9**	**49**	**115**	**135**	**34**	**2**	**2**	**357**
6	Aurangabad Rural	45	2	2	6	10	23	2	0	0	45
7	Jalna	47	0	0	4	3	21	16	3	0	47
8	Beed	78	1	4	24	19	20	8	3	0	79
9	Osmanabad	54	2	4	15	10	14	7	2	0	54
*	**Aurangabad Range**	**224**	**5**	**10**	**49**	**42**	**78**	**33**	**8**	**0**	**225**
10	Nanded	70	0	4	19	7	23	16	0	1	70
11	Latur	54	0	0	10	12	11	19	2	0	54
12	Parbhani	44	1	6	7	9	17	3	1	0	44
13	Hingoli	22	0	0	2	4	11	2	3	0	22
*	**Nanded Range**	**190**	**1**	**10**	**38**	**32**	**62**	**40**	**6**	**1**	**190**
14	Kolhapur	93	1	4	4	47	28	8	0	1	93
15	Pune Rural	181	1	2	29	39	42	45	23	0	181
16	Sangli	67	0	4	15	16	26	7	0	0	68
17	Satara	114	2	0	28	39	29	13	2	1	114
18	Solapur Rural	109	2	8	28	31	30	9	2	0	110
*	**Kolhapur Range**	**564**	**6**	**18**	**104**	**172**	**155**	**82**	**27**	**2**	**566**
19	Bhandara	25	0	3	1	10	6	6	0	0	26
20	Chandrapur	126	4	4	35	37	39	6	0	1	126
21	Nagpur Rural	84	3	7	12	13	40	9	0	0	84
22	Wardha	60	1	6	14	13	18	6	2	0	60
*	**Nagpur Range**	**295**	**8**	**20**	**62**	**73**	**103**	**27**	**2**	**1**	**296**
23	Gadchiroli	41	1	4	10	7	15	4	0	0	41
24	Gondia	56	1	2	5	21	21	6	0	0	56
*	**Gadchiroli Range**	**97**	**2**	**6**	**15**	**28**	**36**	**10**	**0**	**0**	**97**
25	Ahmednagar	106	2	6	25	18	41	14	0	0	106
26	Dhule	35	1	2	9	9	12	1	1	0	35
27	Jalgaon	66	0	2	9	22	24	6	3	0	66
28	Nasik Rural	103	6	9	15	42	21	7	3	1	104
29	Nandurbar	25	0	0	11	5	8	1	0	0	25
*	**Nasik Range**	**335**	**9**	**19**	**69**	**96**	**106**	**29**	**7**	**1**	**336**
30	Raigad	88	1	4	33	17	27	6	0	0	88
31	Ratnagiri	48	1	2	7	19	15	4	0	0	48
32	Sindhudurg	28	0	3	3	11	7	4	0	0	28
33	Thane Rural	86	2	3	9	6	61	4	0	1	86
34	Palghar	135	4	10	23	25	56	14	3	1	136
*	**Thane Range**	**385**	**8**	**22**	**75**	**78**	**166**	**32**	**3**	**2**	**386**
35	Mumbai Railway	5	0	1	2	2	0	0	0	0	5
36	Pune Railway	4	0	0	2	1	1	0	0	0	4
37	Nagpur Railway	6	0	0	1	2	2	1	0	0	6
*	**Railway Range**	**15**	**0**	**1**	**5**	**5**	**3**	**1**	**0**	**0**	**15**
38	Nagpur Commr.	166	10	31	34	31	62	12	3	0	183
39	Pune Commr.	266	7	22	58	74	78	29	2	0	270
40	Thane Commr.	251	9	20	54	46	102	17	3	0	251
41	Mumbai Commr.	712	26	49	193	180	187	82	7	0	724
42	Nasik Commr.	30	1	2	6	10	8	2	1	0	30
43	Aurangabad Commr.	65	1	2	12	16	25	9	0	0	65
44	Solapur Commr.	49	0	2	5	4	34	4	0	0	49
45	Navi Mumbai	104	4	15	31	22	27	9	1	0	109
46	Amravati Commr.	39	2	4	6	6	18	4	0	0	40
*	**Total Commrs.**	**1682**	**60**	**147**	**399**	**389**	**541**	**168**	**17**	**0**	**1721**
*	**Total of M.S**	**4144**	**110**	**262**	**865**	**1030**	**1385**	**456**	**72**	**9**	**4189**

तक्ता क्र. २५

सन २०१५ मध्ये महिलांविरुध्द दाखल गुन्हयांची पोलीसांनी केलेली निर्गती, गुन्हेशिर्ष-निहाय

Table No 25

Disposal of Crime Committed Against Women Cases by Police During 2015

Sr. No	Crime Head	Cases pending investigation from previous year	Cases reported during the year (156(3) Cr.P.C. + Police Stations)	No. of cases withdrawn by the Govt. during investigation	Cases transferred to other Police Station/ Magistrate	Total Cases for investigation (Col. 3+4 - 5 - 6)
1	2	3	4	5	6	7
1	Rape	1507	4144	0	12	5639
1.1	Custodial Rape	0	0	0	0	0
1.1.1	Custodial_Gang Rape	0	0	0	0	0
1.1.2	Custodial_Other Rape	0	0	0	0	0
1.2	Rape other than Custodial	1507	4144	0	12	5639
1.2.1	Rape_Gang Rape	47	141	0	1	187
1.2.2	Rape_Others	1460	4003	0	11	5452
2	Attempt to commit Rape	7	13	0	0	20
3	Kidnapping & Abduction of Women	1758	5096	0	2	6852
3.1	Kidnaping & Abduction	816	3263	0	1	4078
3.2	Kidnaping & Abduction in order to Murder	3	3	0	0	6
3.3	Kidnapping for Ransom	5	8	0	0	13
3.4	Kidnapping & Abduction of Women to compel her for marriage	685	1270	0	0	1955
3.5	Kidnapping & Abduction of Women-Other	249	552	0	1	800
4	Dowry Deaths	110	268	0	0	378
5	Assault on Women with intent to outrage her Modesty	4237	11713	2	3	15945
5.1	Sexual Harassment	1640	4751	1	0	6390
5.2	Assault on women with intent to Disrobe	124	434	0	0	558
5.3	Voyeurism	53	120	0	0	173
5.4	Stalking	290	1399	0	1	1688
5.5	Others	2130	5009	1	2	7136
6	Insult to the Modesty of Women_Total	1016	1119	0	1	2134
6.1	At Office premises	4	27	0	0	31
6.2	In places related to work	22	115	0	0	137
6.3	In Public Transport system	4	28	0	0	32
6.4	in Other Places	986	949	0	1	1934
7	Cruelty by Husband or his Relatives	3091	7640	5	3	10723
8	Importation of Girls from Foreign Country	0	0	0	0	0
9	Abement of Suicides of Women	535	702	0	0	1237
10	Dowry Prohibition Act, 1961	14	42	0	0	56
11	Indecent Representation of Women (Prohibition) Act, 1986	0	0	0	0	0
12	Commission of Sati Prevention Act 1987	0	0	0	0	0
13	Protection of Women from Domestic Violence Act, 2005	4	8	0	0	12
14	Immoral Traffic (Prevention) Act (Women Cases only)	108	381	0	0	489
14.1	Under Section 5	49	114	0	0	163
14.2	Under Section 6	3	4	0	0	7
14.3	Under Section 7	16	49	0	0	65
14.4	Under Section 8	2	133	0	0	135
14.5	Other Sections under ITP Act	38	81	0	0	119
	Total Crimes against Women	**12387**	**31126**	**7**	**21**	**43485**

तक्ता क्र. २५

सन २०१५ मध्ये महिलांविरुध्द दाखल गुन्हयांची पोलीसांनी केलेली निर्गती, गुन्हेशिर्ष-निहाय

Table No 25 (Continued)

Disposal of Crime Committed Against Women Cases by Police During 2015

Sr. No	Crime Head	Cases not investigated U/S 157(1)(b) of Cr.PC	Cases ended as final report false	Cases ended as mistake of fact or of law	Cases in ended as final report as Non Cognizable Submitted during the year	Cases in which charge-sheets were submitted
1	2	8	9	10	11	12
1	Rape	0	41	31	14	3456
1.1	Custodial Rape	0	0	0	0	0
1.1.1	Custodial_Gang Rape	0	0	0	0	0
1.1.2	Custodial_Other Rape	0	0	0	0	0
1.2	Rape other than Custodial	0	41	31	14	3456
1.2.1	Rape_Gang Rape	0	2	0	0	116
1.2.2	Rape_Others	0	39	31	14	3340
2	Attempt to commit Rape	0	1	0	0	16
3	Kidnapping & Abduction of Women	0	135	1585	53	1280
3.1	Kidnaping & Abduction	0	83	1093	13	458
3.2	Kidnaping & Abduction in order to Murder	0	1	0	0	0
3.3	Kidnapping for Ransom	0	1	0	0	4
3.4	Kidnapping & Abduction of Women to compel her for marriage	0	42	323	34	662
3.5	Kidnapping & Abduction of Women-Other	0	8	169	6	156
4	Dowry Deaths	0	3	3	1	252
5	Assault on Women with intent to outrage her Modesty	0	172	85	89	9243
5.1	Sexual Harassment	0	76	29	26	3826
5.2	Assault on women with intent to Disrobe	0	4	1	6	333
5.3	Voyeurism	0	3	0	0	85
5.4	Stalking	0	6	4	1	951
5.5	Others	0	83	51	56	4048
6	Insult to the Modesty of Women_Total	0	5	5	8	1008
6.1	At Office premises	0	0	0	0	12
6.2	In places related to work	0	1	1	1	89
6.3	In Public Transport system	0	0	0	0	25
6.4	in Other Places	0	4	4	7	882
7	Cruelty by Husband or his Relatives	1	19	86	34	6622
8	Importation of Girls from Foreign Country	0	0	0	0	0
9	Abement of Suicides of Women	0	4	10	1	536
10	Dowry Prohibition Act, 1961	0	1	1	0	46
11	Indecent Representation of Women (Prohibition) Act, 1986	0	0	0	0	0
12	Commission of Sati Prevention Act 1987	0	0	0	0	0
13	Protection of Women from Domestic Violence Act, 2005	0	0	0	0	4
14	Immoral Traffic (Prevention) Act (Women Cases only)	0	0	0	0	265
14.1	Under Section 5	0	0	0	0	91
14.2	Under Section 6	0	0	0	0	3
14.3	Under Section 7	0	0	0	0	39
14.4	Under Section 8	0	0	0	0	81
14.5	Other Sections under ITP Act	0	0	0	0	51
	Total Crimes against Women	**1**	**381**	**1806**	**200**	**22728**

तक्ता क्र. २५ (पुर्ण)

सन २०१५ मध्ये महिलांविरुध्द दाखल गुन्हयांची पोलीसांनी केलेली निर्गती, गुन्हेशिर्ष-निहाय

Table No 25 (Concluded)

Disposal of Crime Committed Against Women Cases by Police During 2015

Sr. No	Crime Head	Cases in which charge-sheets were not laid but final report as True submitted during the year	Total cases Disposed off by police (Col. 8+ 9+10+11+12+13)	Cases pending investigation at the end of the year	Charge- sheeting Rate Col.12/ (Col.12+13)*100	Cases Pendency Rate {Col.15/ (3+4) x 100
1	2	13	14	15	16	17
1	Rape	33	3575	2064	61.7	36.5
1.1	Custodial Rape	0	0	0		
1.1.1	Custodial_Gang Rape	0	0	0		
1.1.2	Custodial_Other Rape	0	0	0		
1.2	Rape other than Custodial	33	3575	2064	61.7	36.5
1.2.1	Rape_Gang Rape	1	119	68	62.2	36.2
1.2.2	Rape_Others	32	3456	1996	61.7	36.5
2	Attempt to commit Rape	0	17	3	80.0	15.0
3	Kidnapping & Abduction of Women	340	3393	3459	23.6	50.5
3.1	Kidnaping & Abduction	267	1914	2164	17.8	53.1
3.2	Kidnaping & Abduction in order to Murder	0	1	5		83.3
3.3	Kidnapping for Ransom	1	6	7	38.5	53.8
3.4	Kidnapping & Abduction of Women to compel her for marriage	45	1106	849	36.2	43.4
3.5	Kidnapping & Abduction of Women-Other	27	366	434	22.8	54.2
4	Dowry Deaths	1	260	118	66.9	31.2
5	Assault on Women with intent to outrage her Modesty	189	9778	6167	59.1	38.7
5.1	Sexual Harassment	59	4016	2374	60.8	37.1
5.2	Assault on women with intent to Disrobe	2	346	212	60.0	38.0
5.3	Voyeurism	5	93	80	52.0	46.2
5.4	Stalking	18	980	708	57.4	41.9
5.5	Others	105	4343	2793	58.2	39.1
6	Insult to the Modesty of Women_Total	72	1098	1036	50.6	48.5
6.1	At Office premises	1	13	18	41.9	58.1
6.2	In places related to work	4	96	41	67.9	29.9
6.3	In Public Transport system	0	25	7	78.1	21.9
6.4	In Other Places	67	964	970	49.0	50.1
7	Cruelty by Husband or his Relatives	31	6792	3930	62.0	36.6
8	Importation of Girls from Foreign Country	0	0	0		
9	Abement of Suicides of Women	6	557	680	43.8	55.0
10	Dowry Prohibition Act, 1961	0	48	8	82.1	14.3
11	Indecent Representation of Women (Prohibition) Act, 1986	0	0	0		
12	Commission of Sati Prevention Act 1987	0	0	0		
13	Protection of Women from Domestic Violence Act, 2005	0	4	8	33.3	66.7
14	Immoral Traffic (Prevention) Act (Women Cases only)	1	266	223	54.4	45.6
14.1	Under Section 5	1	92	71	56.4	43.6
14.2	Under Section 6	0	3	4	42.9	57.1
14.3	Under Section 7	0	39	26	60.0	40.0
14.4	Under Section 8	0	81	54	60.0	40.0
14.5	Other Sections under ITP Act	0	51	68	42.9	57.1
	Total Crimes against Women	**673**	**25788**	**17696**	**53.8**	**40.7**

Note : Sum of Column 16 and 17 is not 100 due to the reason of other disposals of cases as shown under column 5,6,8,9,10 and 11.

तक्ता क्र. २६

सन २०१५ मध्ये महिलांविरुध्द दाखल गुन्हयांची न्यायालयाने केलेली निर्गती, गुन्हेशिर्ष-निहाय

Table -26

Disposal of Crimes Committed Against Women Cases by Courts During 2015

Sr. No.	Crime Head	Cases pending trial from the previous year	Cases sent for trial during the year	No. of cases withdrawn by the Govt.	No. Of cases disposed by Plea Bargaining.	Total no. Of cases for trial during the year Col.7=Col.3+4 - Col.5 - col. 6	Cases compounded or withdrawn
1	2	3	4	5	6	7	8
1	Rape	16848	3456	1	0	20303	29
1.1	Custodial Rape	0	0	0	0	0	0
1.1.1	Custodial_Gang Rape	0	0	0	0	0	0
1.1.2	Custodial_Other Rape	0	0	0	0	0	0
1.2	Rape other than Custodial	16848	3456	1	0	20303	29
1.2.1	Rape_Gang Rape	278	116	0	0	394	0
1.2.2	Rape_Others	16570	3340	1	0	19909	29
2	Attempt to commit Rape	35	16	0	0	51	0
3	Kidnapping & Abduction of Women	7955	1280	0	0	9235	8
3.1	Kidnaping & Abduction	2358	458	0	0	2816	1
3.2	Kidnaping & Abduction in order to Murder	20	0	0	0	20	0
3.3	Kidnapping for Ransom	113	4	0	0	117	0
3.4	Kidnapping & Abduction of Women to compel her for marriage	3885	662	0	0	4547	5
3.5	Kidnapping & Abduction of Women-Other	1579	156	0	0	1735	2
4	Dowry Deaths	3942	252	0	0	4194	7
5	Assault on Women with intent to outrage her Modesty_Total	37097	9243	17	0	46323	418
5.1	Sexual Harassment	7811	3826	1	0	11636	102
5.2	Assault on women with intent to Disrobe	408	333	0	0	741	5
5.3	Voyeurism	150	85	0	0	235	2
5.4	Stalking	1091	951	0	0	2042	11
5.5	Others	27637	4048	16	0	31669	298
6	Insult to the Modesty of Women_Total	10887	1008	0	0	11895	146
6.1	At Office premises	27	12	0	0	39	0
6.2	In places related to work	387	89	0	0	476	21
6.3	In Public Transport system	73	25	0	0	98	2
6.4	In Other Places	10400	882	0	0	11282	123
7	Cruelty by Husband or his Relatives	57374	6622	7	2	63987	975
8	Importation of Girls from Foreign Country	1	0	0	0	1	0
9	Abement of Suicides of Women	5061	536	1	0	5596	1
10	Dowry Prohibition Act, 1961	310	46	0	0	356	1
11	Indecent Representation of Women (Prohibition) Act, 1986	56	0	0	0	56	0
12	Protection of Children from Sexual Offences (POCSO) 2012	0	0	0	0	0	0
13	Protection of Women from Domestic Violence Act, 2005	21	4	0	0	25	0
14	Immoral Traffic (Prevention) Act (Women Cases only)	1109	265	0	0	1374	0
14.1	Under Section 5	324	91	0	0	415	0
14.2	Under Section 6	13	3	0	0	16	0
14.3	Under Section 7	301	39	0	0	340	0
14.4	Under Section 8	37	81	0	0	118	0
14.5	Other Sections under ITP Act	434	51	0	0	485	0
	Total Crimes against Women	**140696**	**22728**	**26**	**2**	**163396**	**1585**

तक्ता क्र. २६

सन २०१५ मध्ये महिलांविरुध्द दाखल गुन्हयांची न्यायालयाने केलेली निर्गती, गुन्हेशिर्ष-निहाय

Table -26

Disposal of Crimes Committed Against Women Cases by Courts During 2015

Sr. No.	Crime Head	Cases in which trials were completed	Cases convicted	Cases acquitted or discharged	Cases pending trial at the end of the year	Conviction Rate {(10)/(9)}× 100	Cases Pending for Trials (Col.12/7)x100
1	2	9	10	11	12	13	14
1	Rape	1379	292	1087	18895	21.2	93.1
1.1	Custodial Rape	0	0	0	0		-
1.1.1	Custodial_Gang Rape	0	0	0	0		-
1.1.2	Custodial_Other Rape	0	0	0	0		-
1.2	Rape other than Custodial	1379	292	1087	18895	21.2	93.1
1.2.1	Rape_Gang Rape	25	9	16	369	36.0	93.7
1.2.2	Rape_Others	1354	283	1071	18526	20.9	93
2	Attempt to commit Rape	4	2	2	47	50.0	92.2
3	Kidnapping & Abduction of Women	442	37	405	8785	8.4	95.1
3.1	Kidnaping & Abduction	81	14	67	2734	17.3	97.1
3.2	Kidnaping & Abduction in order to Murder	0	0	0	20		100
3.3	Kidnapping for Ransom	2	0	2	115	0.0	98.3
3.4	Kidnapping & Abduction of Women to compel her for marriage	315	19	296	4227	6.0	93
3.5	Kidnapping & Abduction of Women-Other	44	4	40	1689	9.1	97.3
4	Dowry Deaths	311	26	285	3876	8.4	92.4
5	Assault on Women with intent to outrage her Modesty_Total	3006	506	2500	42899	16.8	92.6
5.1	Sexual Harassment	776	120	656	10758	15.5	92.4
5.2	Assault on women with intent to Disrobe	36	8	28	700	22.2	94.5
5.3	Voyeurism	18	4	14	215	22.2	91.5
5.4	Stalking	82	25	57	1949	30.5	95.4
5.5	Others	2094	349	1745	29277	16.7	92.4
6	Insult to the Modesty of Women_Total	641	75	566	11108	11.7	93.4
6.1	At Office premises	5	1	4	34	20.0	87.2
6.2	In places related to work	42	2	40	413	4.8	86.8
6.3	In Public Transport system	2	1	1	94	50.0	95.9
6.4	In Other Places	592	71	521	10567	12.0	93.7
7	Cruelty by Husband or his Relatives	4607	197	4410	58406	4.3	91.3
8	Importation of Girls from Foreign Country	0	0	0	1		100
9	Abement of Suicides of Women	421	27	394	5174	6.4	92.4
10	Dowry Prohibition Act, 1961	25	0	25	330	0.0	92.7
11	Indecent Representation of Women (Prohibition) Act, 1986	0	0	0	56		100
12	Commission of Sati Prevention Act 1987	0	0	0	0		-
13	Protection of Women from Domestic Violence Act, 2005	0	0	0	25		100
14	Immoral Traffic (Prevention) Act (Women Cases only)	94	60	34	1280	63.8	93.2
14.1	Under Section 5	29	11	18	386	37.9	93
14.2	Under Section 6	1	0	1	15	0.0	93.8
14.3	Under Section 7	6	2	4	334	33.3	98.2
14.4	Under Section 8	31	30	1	87	96.8	73.7
14.5	Other Sections under ITP Act	27	17	10	458	63.0	94.4
	Total Crimes against Women	**10930**	**1222**	**9708**	**150882**	**11.2**	**92.3**

प्रकरण - ६
बालकांवरील अत्याचाराचे गुन्हे

बालकांवरील अत्याचाराचे गुन्हे

६.१.१ गुन्हयांचे वर्गीकरणात बालकांवरील अत्याचाराचे गुन्हे हे वेगळे वर्गीकृत करण्यात आलेले नाहीत. सामान्यतः बालकांवरील अत्याचाराचे जे गुन्हे घडतात किंवा ज्या गुन्हयात बालके पीडित असतात असे गुन्हे बालकांवरील अत्याचाराचे गुन्हे म्हणून विचारात घेतले जातात. ज्या गुन्हयामध्ये बालकांचा दुरूपयोग करून घेण्यात येतो अशा गुन्ह्यांचा उल्लेख देशाचे भारतीय दंड विधान आणि संरक्षक व प्रतिबंधक अशा विविध विशेष व स्थानिक अधिनियममध्ये नमूद आहे. या प्रकरणासाठी अशा प्रकारच्या गुन्हयांचे बालकांवरील अत्याचाराचे गुन्हे असे विश्लेषण करण्यात आले आहे.

६.१.२ एक बाब लक्षात ठेवावी की, या प्रकरणात ज्या गुन्हयांचे विश्लेषण करण्यात येत आहे. ते गुन्हे विशेष गटातील असे वेगळे गुन्हे नाहीत. भा.दं.वि, विशेष व स्थानिक कायद्याखालील ते गुन्हे म्हणून चर्चिले आहेत. राज्यात दाखल झालेल्या गुन्हयांपैकी ज्या गुन्ह्यांमध्ये बालक हेच पीडित आहेत ते गुन्हे निवडून त्यांचा या प्रकरणात समावेश करण्यात आलेला आहे.

६.१.३ ज्या गुन्हयांत बालके ही पीडित ठरलेली आहेत अगर त्यांचा दुरूपयोग करण्यात आलेला आहे अशा गुन्हयांचे वर्गीकरण दोन ठळक विभागात करता येईल.

१) भादंवि प्रमाणे शिक्षा पात्र बालकांवरील अत्याचाराचे गुन्हे खालील प्रमाणे समाविष्ट आहेत. अ) गैरकायदेशीर गर्भपात (बालकाचा जन्म रोखणे) कलम ३१५, ३१६ भादंवि प्रमाणे, ब) गर्भातील जीवास इजा पोहचविणे (जन्म न झालेल्या बालकाबाबतचा गुन्हा) कलम ३१५, ३१६ भादंवि. प्रमाणे, क) आत्महत्येस प्रवृत्त करणे (दुस-या इसमांकडून बालकास आत्महत्येस प्रवृत्त करणे) कलम ३०५ भादंवि प्रमाणे, ड) निराश्रित सोडून देणे (आई वडिलांनी बालकास निराश्रित सोडणे किंवा त्याग करणे बाबत) कलम ३१७ भादवि. प्रमाणे, इ) अपहरण व पळवून नेणे १) निर्याती करिता पळवून नेणे (कलम ३६० भादंवि), २) कायदेशीर रखवालीतून पळवून नेणे (कलम ३६१ भादंवि), ३) खंडणी करिता पळवून नेणे (कलम ३६३ आणि कलम ३८४ भादंवि),

CHAPTER – 6
CRIME AGAINST CHILDREN

Crime Against Children

6.1.1 There is no separate classification of offences categorised as offences against children. Generally, the offences committed against the children or the crimes in which children are the victims are considered as Crime against Children. The Indian Penal Code and the various protective and preventive "Special and Local Laws" of this country have specifically made a mention of offences wherein children are abused. Such offences are construed as Crime Against Children for the purpose of analysis in the chapter.

6.1.2 It is also to be borne in mind that the offences being analysed in this chapter do not form an exclusive block of offences that were reported in the state. They are embedded in the IPC/SLL cases already discussed. The offences in this chapter have been selected from the various reported crimes in the State wherein the victims of the penal offences were children.

6.1.3 The cases in which children are victimised or abused can be categorised under two broad sections :

1) Crime Against Children punishable under the Indian Penal Code (IPC) include : A) Foeticides (Crime against children being born) Section 315, 316 IPC B) Infanticides (Crime against unborn children) Section 315 IPC, C) Abetment to commit suicide to minor Section 305 IPC, D) Exposure & Abandonment (Crime against children by parents or others to expose or to leave them with the intention of abandonment) : Section 317 IPC, E) Kidnapping & Abduction : i) Kidnapping for exportation (Section 360 IPC)., ii) Kidnapping from lawful guardianship (Section 361 IPC)., iii) Kidnapping for ransom (Section 363 read with Section 384 IPC).,

४) उंटाचे शर्यतीसाठी पळवून नेणे (कलम ३६३ भादंवि), ५) भीक मागण्यासाठी पळवून नेणे (कलम ३६३ (अ) भादंवि), ६) विवाहासाठी पळवून नेणे (कलम ३६६ भादंवि), ७) गुलामगिरी साठी पळवून नेणे (कलम ३६७ भादंवि). ८) अंगावरील वस्तूची चोरी करण्याचे उद्देशाने पळवून नेणे (१० वर्षाखालील) (कलम ३६९ भादंवि), फ) अल्पवयीन मुलीस पळवून नेणे (लैगिंक संबंधासाठी उत्तेजन किंवा धमकी किंवा लाच देऊन पळवून नेणे) कलम ३६६ (अ) भादंवि प्रमाणे, ग) वेश्या व्यवसायासाठी मुलींची विक्री कलम ३७२ भादंवि प्रमाणे, ह) वेश्या व्यवसायासाठी मुलींची खरेदी करणे कलम ३७३ भादंवि प्रमाणे, ई) बलात्कार कलम ३७६ भादंवि प्रमाणे, ज) अनैसर्गिक संभोग कलम ३७७ भादंवि प्रमाणे.

iv)Kidnapping for camel racing etc. (Section 363 IPC)., v) Kidnapping for begging (Section 363-A IPC)., vi) Kidnapping to compel for marriage (Section 366 IPC), vii) Kidnapping for slavery (Section 367 IPC) viii) Kidnapping for stealing from its person (under 10 years of age only) (Section 369 IPC)., F) Procurement of minor girls (by inducement or by force to seduce or have illicit intercourse) section 366-A IPC., G) Selling of girls for prostitution (Section 372 IPC)., H)Buying of girls for prostitution (Section 373 IPC). I) Rape (Section 376 IPC) J) Unnatural sex (Section 377 IPC).

२. विशेष व स्थानिक कायद्याप्रमाणे शिक्षा पात्र बालकांवरील अत्याचाराचे अपराध खालील प्रमाणे

अ) अनैतिक व्यापार प्रतिबंध कायदा (वेश्या व्यवसायासाठी बालिकांचा गैरवापर), १९५६
ब) बाल विवाह प्रतिबंध कायदा (सुधारित), १९७९
क) बाल मजूर (प्रतिबंधक) कायदा, १९८६

2. Offences Against children which are punishable under 'Special & Local Laws' are

a) Immoral Traffic Prevention Act (where minors are abused in prostitution), 1956
b) Child Marriage Restraint Act. (Amended) 1979
c) Child Labour (Prevention) Act, 1986

अल्पवयीन मुलांवरील अत्याचाराचे गुन्हे

६.२.१ सन २००१ पासून या संज्ञेत बदल होऊन १८ वर्षा पर्यन्तची मुले व मुली बालक या संज्ञेमध्ये घेण्यात आलेली आहेत व त्याप्रमाणे २००१ पासून माहिती संकलित केलेली आहे. सन २०११ ते २०१५ या कालावधीचे वेगवेगळया शीर्षाखाली दाखल गुन्हे, सन २०११ व सन २०१४ या सालातील दाखल गुन्हयांच्या मानाने सन २०१५ मध्ये पडलेल्या तफावतीची टक्केवारी तक्ता क्र. ६.१ मध्ये दर्शविली आहे.

Incidences of Offences committed Against Juveniles

6.2.1 Since 2001, boys and girls up to 18 years are defined as Juveniles and data is collected accordingly from 2001. Figures registered as per crime (head-wise) from 2011 to 2015, and percentage variation during 2015 as compared to 2011 and 2014 is given in Table No 6.1.

तक्ता क्र. ६.१

Table No. 6.1

SR NO	CRIME HEADS	YEARS					PERCENTAGE VARIATION OF 2015 AS COMPARED TO	
		2011	2012	2013	2014	2015	2011	2014
1	2	3	4	5	6	7	8	9
1	Murder (excluding Infanticide) (Sec. 302 IPC)	201	201	191	195	207	2.99	6.15
2	Infanticide (Sec.315 IPC)	3	11	6	12	7	133.30	-41.66
3	Rape (Sec.376 IPC)	818	917	1546	1714	2231	172.70	30.16
4	Assault on Women (Girl Child) with intent to outrage her Modesty (under Sec.354 IPC)	*	*	*	1927	2468	-	-
5	Insult to the Modesty of Women (Girls Children) (under Sec.509 IPC)	*	*	*	95	91	-	-
6	Kidnapping & Abduction (Sec.363, 364, 364A, 366 to 369 IPC)	858	893	1698	2616	6960	711.18	166.05
7	Foeticide (Sec.315 and 316 IPC)	12	22	17	7	11	-8.33	57.14
8	Abetment of suicide of child (Sec.305 IPC)	12	13	26	19	13	8.33	-31.58
9	Exposure and Abandonment (Sec.317 IPC)	189	199	259	225	219	15.87	-2.66
10	Procuration of minor girls (Sec.366-A IPC)	20	31	41	7	6	-70.00	-14.28

11	Importation of Girls from Foreign Country (Sec.366-B IPC) (under 18 years of age)	*	*	*	**0**	**13**	**-**	**-**
12	Buying of minors for prostitution (Sec.373 IPC)	**20**	**4**	**2**	**7**	**7**	**-65.00**	**0.00**
13	Selling of minors for prostitution (Sec.372 IPC)	**2**	**2**	**13**	**4**	**1**	**-50.00**	**-75.00**
14	Prohibition of Child Marriage Act, 2006	**19**	**6**	**16**	**14**	**24**	**26.31**	**71.42**
15	Transplantation of Human Organs Act, 1994 (for persons below 18 years of age)	*	*	*	**0**	**0**	**-**	**-**
16	Child Labour (Prohibition & Regulation) Act, 1986	*	*	*	**45**	**96**	**-**	**-**
17	Immoral Traffic (Prevention) Act, 1956	*	*	*	**13**	**18**	**-**	**-**
18	Juveniles Justice (Care and Protection of Children) Act, 2000	*	*	*	**40**	**251**	**-**	**-**
19	Protection of Children from Sexual Offences Act 2012	*	*	*	**190**	**26**	**-**	**-**
20	Attempt to murder (u/s 307 IPC)	*	*	*	**34**	**44**	**-**	**-**
21	Unnatural Offences (u/s 377 IPC)	*	*	*	**74**	**116**	**-**	**-**
23	Human Trafficking	*	*	*	**0**	**5**		
23	Other crimes committed against children	**1208**	**1157**	**2595**	**877**	**1120**	**-7.28**	**27.70**
23	Total Crimes against Children	**3362**	**3456**	**6410**	**8115**	**13934**	**598.45**	**189.36**

* indicates that the Crime Head was not introduced till that year

आलेख क्र. ६.१

सन २०११-२०१५ मधील अल्पवयीन बालिकांवर बलात्कार, त्यांना पळवून नेणे व अपहरण बाबत दाखल गुन्हे

Chart No. 6.1

Incidences Of Kidnapping & Abduction And Rape Of Juvenile Girls During 2011 - 2015

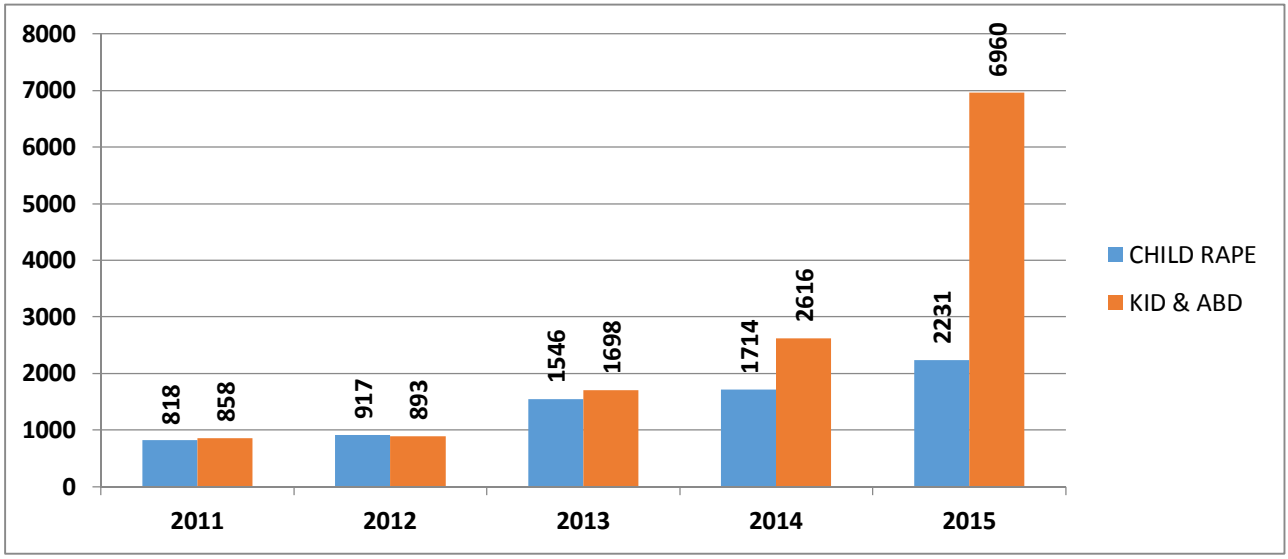

६.२.२ तक्ता क्र. ६.१ चे अवलोकन करता स्पष्टपणे दिसून येते की सन २०१५ मध्ये बालकांवरील अत्याचाराचे १३९२१ गुन्हे दाखल झाले असून २०१४ (८११५) च्या तुलनेत ७१.५५ % ने वाढ झालेली आहे

6.2.2 From the Table No. 6.1, it is apparent that the incidences of crime committed against Juveniles were 13921 cases for the year 2015. The incidences of crime committed against them have increased during 2015 by 71.55% when compared to the year 2014 (8115 cases)

बालकांचे खून

६.३.१. या शीर्षाखाली सन २०१५ मध्ये २०७ गुन्हे दाखल झाले असून त्यापैकी ७ शिशु हत्या व इतर खून २०० अशी वर्गवारी आहे. शिशु हत्या या सदराखाली सन २०१४ पेक्षा सन २०१५ मध्ये ४१.६७% ने घट झालेली आहे.

Child Murder

6.3.1 There were 207 cases of child murder reported during the year 2015. Out of them, 7 cases have been registered under infanticide and 200 cases have been registered as other murder. The incidences of infanticide showed 41.67% decrease during 2015 as compare to 2014.

बालिकांवरील बलात्कार

६.३.२. सन २०१५ मध्ये बालिकांवरील बलात्काराचे २२३१ गुन्हे दाखल झाले असून सन २०१४ (१७१४ गुन्हे) च्या तुलनेने ३०.१६% ने वाढ झाली आहे. सन २०११ ते सन २०१५ सालातील बलात्काराने पीडित बालिका व बलात्काराच्या एकुण पीडित यांचा हिस्सा दर्शविणारी तुलनात्मक आकडेवारी खालील तक्त्यात दिलेली आहे.

Child Rape

6.3.2 Total 2231 cases of rape on Juvenile Girls have been reported during 2015 and this statistics is increased by 30.16% as compared to year 2014 (1714) in the State. The following table provides the detailed information on child rape victims and their proportion in the total rape victims during the year 2011 to 2015

तक्ता क्र. ६.२

बालिका बलात्काराचे बळी (२०११ - २०१५)

Table No. 6.2

VICTIMS OF CHILD RAPE (2011 - 2015)

SR. NO.	YEAR	AGE GROUP (YEARS)	SHARE OF CHILDREN RAPE VICTIMS IN TOTAL RAPE VICTIMS
		BELOW 18	
1	**2**	**3**	**5**
1	2011	**845**	48.42
2	2012	**924**	50.08
3	2013	**1564**	50.71
4	2014	**1724**	49.75
5	2015	**2267**	54.11
% change during 2015 as compared to 2011		**168.28**	-
% change during 2015 as compared to 2014		**31.49**	-

६.३.३ क्र. ६.२ चे अवलोकन करता असे दिसून येते की, सन २०१५ सालात बलात्कारात पीडित ५४.११% इतक्या बालिका आहेत, ही अत्यंत दुर्दैवी बाब आहे. सन २०१४ व सन २०१५ मध्ये १८ वर्षाखालील वयोगटातील बालकांवरील अत्याचारात (बलात्कार) ३१.४९% ने वाढ झाली आहे. सन २०११ पेक्षा सन २०१५ मध्ये १८ वर्षाखालील वयोगटातील बालिकांवरील अत्याचारात (बलात्कार) गुन्हयात १६८.२८% इतकी वाढ झालेली आहे. सन २०१५ मधील घटक-निहाय बालकांवरील अत्याचाराचे गुन्हे व गुन्हयाचे प्रतिशत प्रमाण तक्ता क्र.३० मध्ये दर्शविण्यात आले आहे.

6.3.3 It is observed from the data in Table No.6.2 that girl children accounted for 54.11 % of rape victims during 2015, which is very unfortunate and sad. The cases of rape of girl children below the age of 18 years have increased by 31.49% as compared to 2014. The cases of rape of girl children below the age of 18 years have increased during 2015 by 168.28% as compared to 2011. Unit-wise incidences and percentage contribution to crimes committed against children during 2015 is shown in Table No. 30.

बालिकांवरील बलात्कार

६.४.१ बालिकांवरील बलात्काराच्या गुन्हयांच्या आकडेवारीनुसार मुंबई शहर (४४८), पुणे शहर (१५६), ठाणे शहर (११९), नागपूर शहर (९४) चंद्रपूर (८०) व अमरावती ग्रामीण (७६) या घटकांमध्ये उल्लेख करण्याजोगे गुन्हे दाखल झाले आहेत. राज्यात एकूण दाखल झालेल्या बालिकांवरील बलात्काराच्या गुन्हयांपैकी ४०.२०% इतके गुन्हे वरील घटकांमध्ये दाखल झाल्याचे दिसून येते. परंतु १८ वर्षाखालील पिडीतांमध्ये सन २०१३ मध्ये १५६४, सन २०१४ मध्य १७२४ व सन २०१५ मध्ये २२६७ ची नोंद होऊन वाढ आलेली आहे.

Rape (below 18 year)

6.4.1 Numerically Mumbai (C) (448), Pune (C) (156), Thane (C) (119), Nagpur (C) (94), Chandrapur (80), Amravati (R) (76) reported a significantly large number of child girl rape cases. The above units together contributed 40.20% of all child girl rape cases during the year 2015. In below 18 years age group number of victims during 2013 were 1564, and during 2014 it was 1724 and during 2015 it is 2267. Therefore, there is an increase in offences registered during 2015.

लहान मुलांना पळवून नेणे व अपहरण

६.४.२ या शीर्षाखालील गुन्ह्यांमध्ये सन २०१४ पेक्षा सन २०१५ मध्ये (१६६.०५%) इतकी वाढ झालेली आहे. या शीर्षाखाली सर्वात जास्त गुन्हे मुंबई शहर येथे (१५२०) दाखल आहेत. शासनाकडील परिपत्रक क्रमांक सीआरटी ०९१२/प्र.क्र.५४/पोल १३, मुंबई, दिनांक १०/११/२०१४ अन्वये हरविलेल्या बालकांचे संदर्भात अपहरणाचा गुन्हा दाखल करणे बाबत परिपत्रक निर्गमीत झाल्याने अपहरणाचे गुन्हयांमध्ये वाढ झाल्याचे दिसुन येते.

Kidnapping & Abduction of Children

6.4.2 Incidences of Kidnapping & Abduction of children have increased by 166.05% during 2015 (6960) as compared to 2014 (2616). Mumbai (C) reported the highest number of such incidents (1520) during 2015. As per Govt. Circular No. CRT 0912/Pra. Kra. 54/Pol 13 Mumbai, Dated 10/11/2014 regarding FIR registered under crime of kidnapping in the cases of missing children, there is increase in the kidnapping cases.

मुलींचा अनधिकृतपण ताबा मिळविणे

६.४.३ मुलींचा अनधिकृतपणे ताबा मिळविणे या शीर्षाखाली सन २०१४ मध्ये ७ तर सन २०१५ मध्ये ६ गुन्हे दाखल झाले आहेत.

Procurement of minor girls

6.4.3 Total 6 incidences procurement of minor girls were reported during 2015 as compared to 7 during 2014.

वेश्या व्यवसायाकरिता मुलींची विक्री करणे

६.४.४ सन २०१५ मध्ये ठाणे ग्रामीण मध्ये वेश्या व्यवसायासाठी विक्री या शिर्षाखाली १ गुन्हा दाखल झाला आहे.

Selling of girls for prostitution

6.4.4 During 2015, one case has been reported under selling of girls for prostitution in unit Thane (Rural).

वेश्या व्यवसायाकरिता मुली विकत घेणे

६.४.५ या शीर्षाखाली सन २०१४ व २०१५ शी तुलना करता दोन्ही वर्षात समान म्हणजे (७) गुन्हे दाखल आहे. २०१५ मध्ये नागपूर शहरात (७) गुन्हे दाखल आहेत.

Buying of girls for prostitution

6.4.5 The incidences of buying of girls for prostitution have same (7) during the year 2015 over 2014. During 2015 (7) cases have been reported from Nagpur (C).

आत्महत्येस प्रवृत्त करणे

६.४.६ या शीर्षाखाली २०१४ च्या तुलनेत सन २०१५ मध्ये ३१.५८% ने घट झालेली आहे. सन २०१५ मध्ये सांगली (३) व नागपूर ग्रामीण (२) असे गुन्हे दाखल झाले आहेत.

Abetment to commit Suicide

6.4.6 The cases of abetment to commit suicide showed decrease by 31.58% during 2015 (13) as compared to 2014 (19). During 2015 cases reported are from Sangali (3) & Nagpur (R) (2)

बालकास निराश्रित सोडून देणे

६.४.७ या शीर्षाखाली सन २०१५ मध्ये २१९ गुन्हे दाखल झाले असून २०१४ शी २२५ तुलना करता २.६६% इतकी घट झालेली आहे. या सदरा खाली सर्वात जास्त गुन्हे नांदेड (२०), अहमदनगर (१४), नाशिक ग्रामीण (१३), सांगली (१२) आणि मुंबई रेल्वे (११) असे गुन्हे दाखल झाले आहेत.

Exposure and abandonment

6.4.7 During 2015, 219 cases have been reported under this head as compared to 225 cases during 2014, which shows decrease by 2.66%. The maximum number of cases were from Nanded (20), Ahmednagar (14) , Nashik (R) (13), Sangli (12) & Mumbai Rly. (11) .

भृण हत्या

६.४.८ या शीर्षाखाली सन २०१५ मध्ये ११ गुन्हे दाखल झाले असून २०१४ मधील ७ गुन्हयांशी तुलना करता ५७.१४ % ने घट झाली आहे. या सदराखाली चालू वर्षी नागपूर शहर (२), मुंबई शहर (२), औरंगाबाद ग्रा. (१), सांगली (१) व सोलापुर शहर (१) असे गुन्हे दाखल झाले आहेत.

Foeticide

6.4.8 During 2015, 11 cases have been reported under this head, as compared to 7 in 2014, which shows an increases by 57.14% as compared to 2014. The cases of foeticide have been reported from Nagpur (C)(2) , Mumbai (C)(2) , A bad (R)(1), Sangli (1) & Solapur Comm (1).

मुलांचे विरुध्द घडलेले इतर गुन्हे

६.४.९ या शीर्षाखाली सन २०१५ मध्ये एकूण ११२० गुन्हे दाखल झाले असून, त्यामध्ये मुंबई शहरामध्ये सर्वाधिक (३७८), नागपूर शहर(१३१) व पुणे शहर (७४) असे गुन्हे दाखल झालेले आहेत.

Other Offences Committed Against Children.

6.4.9 Under this head, 1120 cases have been reported during 2014. The highest number of cases are registered in Mumbai (C) (378) followed by Nagpur (C)(131) & Pune (C) (74).

घटकांचा हिस्सा

६.५.१ खालील नमूद आलेख क्र ६.२ मध्ये व तक्ता क्र. २९ मध्ये घटकनिहाय बालकांवरील अत्याचाराचे सन २०१५ मध्ये दाखल झालेल्या गुन्हयांची संख्या व टक्केवारी दर्शविण्यात आलेली आहे.

Units Share

6.5.1 Unit-wise incidences and percentage share of crimes reported against children during 2015 are shown in the Chart No. 6.2 and Table No. 29 .

आलेख क्र. ६.२

सन २०१५ मध्ये अल्पवयीन मुलांवरील अत्याचाराचे दाखल गुन्ह्यांची घटक-निहाय टक्केवारी

Chart No. 6.2

Unit-Wise Percentage Of Offences Against Children During 2015

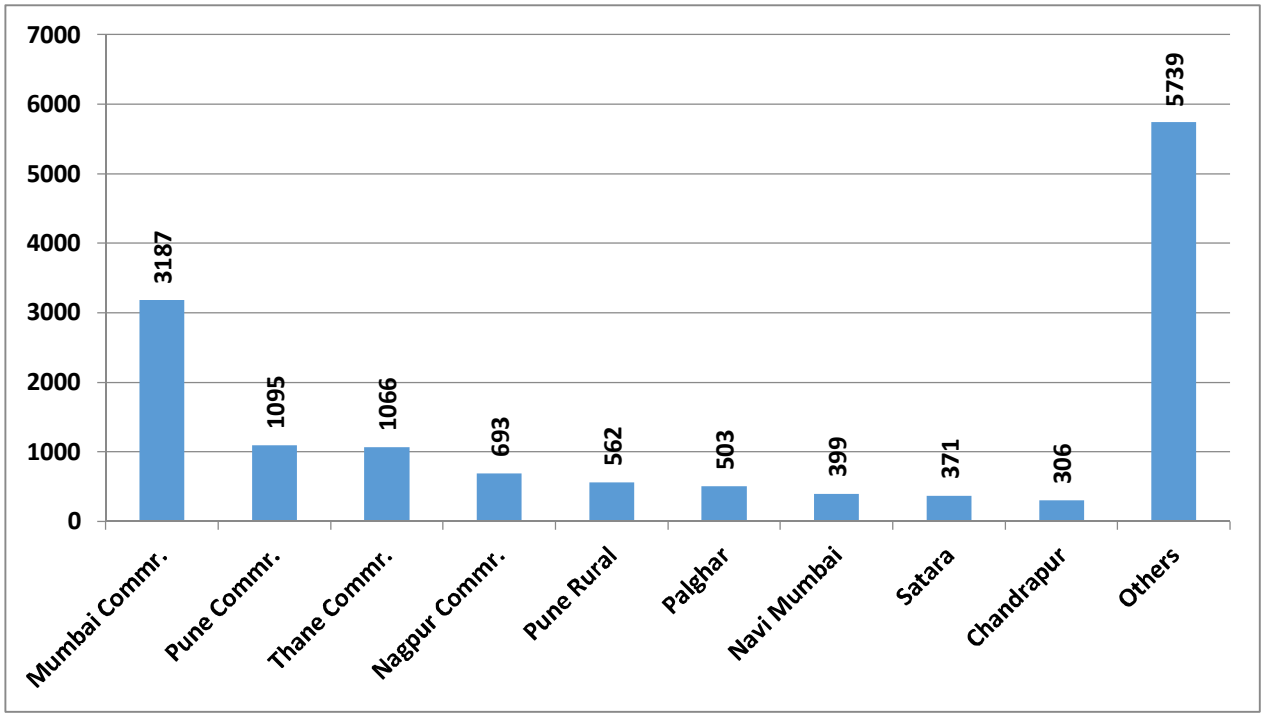

तक्ता क्र. २७

सन २०१५ मधील घटक-निहाय बालकावरील अत्याचाराचे गुन्हे व गुन्हयांचे प्रमाण

Table no 27

Unit - Wise Incidence & Rate of Crime Committed Against Children During 2015

Sr. No	State/UT	Incidence	Percentage Contribution To State Total	Estimated Mid Year Population (In Lakhs)	Rate Of Total Cognizable Crimes	Rank on the Basis of Col.6	Rank on the Basis of Col.4
1	2	3	4	5	6	7	8
1	Akola	188	1.4	19.13	9.8	17	20
2	Amravati Rural	283	2.0	21.76	13.0	11	10
3	Buldhana	160	1.1	27.32	5.9	32	29
4	Yavatmal	265	1.9	29.57	9.0	21	12
5	Washim	85	0.6	12.82	6.6	29	38
	Amravati Range	**981**	**7.0**	**110.59**	**8.9**		
6	Aurangabad Rural	141	1.0	23.72	5.9	33	32
7	Jalna	52	0.4	21.08	2.5	44	41
8	Beed	200	1.4	27.76	7.2	25	21
9	Osmanabad	118	0.8	17.65	6.7	27	34
*	**Aurangabad Range**	**511**	**3.7**	**90.21**	**5.7**		
10	Nanded	217	1.6	35.98	6.0	31	18
11	Latur	161	1.2	26.31	6.1	30	26
12	Parbhani	148	1.1	19.72	7.5	23	30
13	Hingoli	64	0.5	12.64	5.1	37	39
*	**Nanded Range**	**590**	**4.2**	**94.65**	**6.2**		
14	Kolhapur	193	1.4	41.22	4.7	41	22
15	Pune Rural	562	4.0	44.48	12.6	12	5
16	Sangli	212	1.5	29.98	7.1	26	19
17	Satara	371	2.7	31.84	11.7	15	8
18	Solapur Rural	241	1.7	35.74	6.7	28	16
*	**Kolhapur Range**	**1579**	**11.3**	**183.25**	**8.6**		
19	Bhandara	154	1.1	12.71	12.1	14	31
20	Chandrapur	306	2.2	23.35	13.1	10	9
21	Nagpur Rural	164	1.2	22.51	7.3	24	27
22	Wardha	169	1.2	13.77	12.3	13	28
*	**Nagpur Range**	**793**	**5.7**	**72.33**	**11.0**		
23	Gadchiroli	58	0.4	11.42	5.1	38	42
24	Gondia	136	1.0	14.06	9.7	18	33
*	**Gadchiroli Range**	**194**	**1.4**	**25.48**	**7.6**		
25	Ahmednagar	257	1.8	48.02	5.4	35	13
26	Dhule	73	0.5	22.02	3.3	42	40
27	Jalgaon	231	1.7	45.18	5.1	39	17
28	Nasik Rural	246	1.8	47.62	5.2	36	14
29	Nandurbar	55	0.4	17.79	3.1	43	43
*	**Nasik Range**	**862**	**6.2**	**180.64**	**4.8**		
30	Raigad	180	1.3	18.77	9.6	20	25
31	Ratnagiri	93	0.7	16.15	5.8	34	36
32	Sindhudurg	43	0.3	8.50	5.1	40	44
33	Thane Rural	191	1.4	23.97	8.0	22	23
34	Palghar	503	3.6	31.61	15.9	8	6
*	**Thane Range**	**1010**	**7.3**	**99.00**	**10.2**		
35	Mumbai Railway	107	0.8	0.00	0.0		35
36	Pune Railway	21	0.2	0.00	0.0		45
37	Nagpur Railway	22	0.2	0.00	0.0		46
*	**Railway Range**	**150**	**1.1**	**0.00**	**0.0**		
38	Nagpur Commr.	693	5.0	27.04	25.6	2	4
39	Pune Commr.	1095	7.9	57.40	82.5	1	2
40	Thane Commr.	1066	7.7	50.87	21.0	5	3
41	Mumbai Commr.	3187	22.9	126.30	25.2	3	1
42	Nasik Commr.	249	1.8	17.41	14.3	9	15
43	Aurangabad Commr.	273	2.0	16.02	17.0	7	11
44	Solapur Commr.	100	0.7	10.28	9.7	19	37
45	Navi Mumbai	399	2.9	21.38	18.7	6	7
46	Amravati Commr.	189	1.4	8.59	22.0	4	25
*	**Total Commrs.**	**7251**	**52.1**	**335.29**	**21.6**		
*	**Total of M.S**	**13921**	**100.0**	**1191.43**	**11.7**		

तक्ता क्र. २८ (पुढे चालू)

सन २०१५ मध्ये बालकावरील झालेल्या अत्याचाराची पोलीसांनी केलेली निर्गती (गुन्हे शिर्ष-निहाय)

Table No. 28 (Continued)

Disposal of Crime Committed Against Children Cases by Police (Crime Head-wise) During 2015

Sr. No.	Crime Head	Cases pending investigation from previous year	Cases reported during the year (156(3) Cr.P.C. + Police Stations)	No. of cases withdrawn by the Govt. during investigation	Cases transferred to other Police Station/ Magistrate	Total Cases for investigation (Col. 3+4 - 5 - 6)	Cases not investigated U/S 157(1)(b) of Cr.PC
1	2	3	4	5	6	7	8
1	Murder	86	207	0	1	292	0
2	Infanticide	7	7	0	0	14	0
3	Rape	705	2231	0	2	2934	0
4	Assault on women with intent to outrage her Modesty	715	2468	0	0	3183	0
4.1	Sexual Harassment	333	1043	0	0	1376	0
4.2	Assault on women with intent to Disrobe	12	77	0	0	89	0
4.3	Voyeurism	10	12	0	0	22	0
4.4	Stalking	84	422	0	0	506	0
4.5	Others assault	276	914	0	0	1190	0
5	Insult to the Modesty of Women (Girls Children)	44	91	0	0	135	0
6	Kidnapping & Abduction_Total	1908	6960	0	2	8866	0
6.1	Kidnapping & Abduction	1278	5337	0	0	6615	0
6.2	Kidnaping & Abduction in order to Murder	2	5	0	0	7	0
6.3	Kidnapping for Ransom	3	8	0	0	11	0
6.4	Kidnapping & Abduction of Women to compel her for marriage	382	945	0	0	1327	0
6.5	Other Kidnapping	243	665	0	2	906	0
7	Foeticide	6	11	0	0	17	0
8	Abetment of Suicide of child	11	13	0	0	24	0
9	Exposure and Abandonment	176	219	0	0	395	0
10	Procuration of minor girls	11	6	0	0	17	0
11	Importation of Girls from Foreign Country	0	0	0	0	0	0
12	Buying of minors for prostitution	5	7	0	0	12	0
13	Selling of minors for prostitution	7	1	0	0	8	0
14	Prohibition of Child Marriage Act, 2006	10	24	0	0	34	0
15	Transplantation of Human Organs Act, 1994	0	0	0	0	0	0
16	Child Labour (Prohibition & Regulation) Act, 1986	42	96	0	0	138	0
16.1	Offences committed against Migrant	9	20	0	0	29	0
16.1.1	Offences committed against SC migrants	2	0	0	0	2	0
16.1.2	Offences committed against ST migrants	0	0	0	0	0	0
16.1.3	Offences committed against others migrants	7	20	0	0	27	0
16.2	Offences committed against Locals	33	76	0	0	109	0
16.2.1	Offences committed against Local SCs	0	0	0	0	0	0
16.2.2	Offences committed against Local STs	0	0	0	0	0	0
16.2.3	Offences committed against others locals	33	76	0	0	109	0
17	Immoral Traffic (Prevention) Act, 1956	37	18	0	0	55	0
17.1	Under ITP Section 5	12	10	0	0	22	0
17.2	Under ITP Section 6	0	0	0	0	0	0
17.3	Under ITP Section 7	10	3	0	0	13	0
17.4	Under ITP Section 8	1	0	0	0	1	0
17.5	Other Section of ITP Act	14	5	0	0	19	0
18	Juvenile Justice (Care and Protection of Children) Act, 2000	27	251	0	0	278	0
19	Protection of Children from Sexual Offences Act, 2012	54	26	0	0	80	0
19.1	Under PCSO Act Section 4	22	3	0	0	25	0
19.2	Under PCSO Act Section 6	3	0	0	0	3	0
19.3	Under PCSO Act Section 8	22	15	0	0	37	0
19.4	Under PCSO Act Section 10	0	1	0	0	1	0
19.5	Under PCSO Act Sections 14 & 15	0	0	0	0	0	0
19.6	Other Acts of PCSO	7	7	0	0	14	0
20	Attempt to commit Murder	14	44	0	0	58	0
21	Unnatural Offences	17	116	0	0	133	0
22	Human Trafficking	1	5	0	0	6	0
23	Other crimes committed against children	782	1120	0	0	1902	0
Total crimes against Children		**4665**	**13921**	**0**	**5**	**18581**	**0**

तक्ता क्र. २८ (पुढे चालू)

सन २०१५ मध्ये बालकावरील झालेल्या अत्याचाराची पोलीसांनी केलेली निर्गती (गुन्हे शिर्ष-निहाय)

Table No. 28 (Continued)

Disposal of Crime Committed Against Children Cases by Police (Crime Head-wise) During 2015

Sr. No.	Crime Head	Cases ended as final report false	Cases ended as mistake of fact or of law	Cases in ended as final report as Non Cognizable Submitted during the year	Cases in which charge-sheets were submitted	Cases in which charge-sheets were not laid but final report as True submitted during the year	Total cases Disposed off by police (Col. 8+ 9+10+11+12+13)
1	2	9	10	11	12	13	14
1	Murder	1	1	12	147	26	187
2	Infanticide	1	0	0	5	4	10
3	Rape	5	2	0	1793	11	1811
4	Assault on women with intent to outrage her Modesty	17	4	7	1878	16	1922
4.1	Sexual Harassment	13	3	4	851	8	879
4.2	Assault on women with intent to Disrobe	0	0	0	50	0	50
4.3	Voyeurism	0	0	0	11	0	11
4.4	Stalking	0	0	0	283	4	287
4.5	Others assault	4	1	3	683	4	695
5	Insult to the Modesty of Women (Girls Children)	1	0	0	73	1	75
6	Kidnapping & Abduction_Total	221	2632	18	1329	514	4714
6.1	Kidnapping & Abduction	186	2065	14	764	461	3490
6.2	Kidnaping & Abduction in order to Murder	1	1	0	1	0	3
6.3	Kidnapping for Ransom	1	0	0	4	0	5
6.4	Kidnapping & Abduction of Women to compel her for marriage	21	215	2	425	18	681
6.5	Other Kidnapping	12	351	2	135	35	535
7	Foeticide	1	1	0	7	4	13
8	Abetment of Suicide of child	0	0	0	14	0	14
9	Exposure and Abandonment	1	3	0	31	186	221
10	Procuration of minor girls	0	0	0	6	2	8
11	Importation of Girls from Foreign Country	0	0	0	0	0	0
12	Buying of minors for prostitution	0	0	0	6	0	6
13	Selling of minors for prostitution	0	0	0	1	0	1
14	Prohibition of Child Marriage Act, 2006	1	0	0	25	0	26
15	Transplantation of Human Organs Act, 1994	0	0	0	0	0	0
16	Child Labour (Prohibition & Regulation) Act, 1986	0	0	0	55	1	57
16.1	Offences committed against Migrant	0	1	0	18	0	18
16.1.1	Offences committed against SC migrants	0	0	0	0	0	0
16.1.2	Offences committed against ST migrants	0	0	0	0	0	0
16.1.3	Offences committed against others migrants	0	0	0	18	0	18
16.2	Offences committed against local	0	0	0	37	1	39
16.2.1	Offences committed against Local SCs	0	1	0	0	0	0
16.2.2	Offences committed against Local STs	0	0	0	0	0	0
16.2.3	Offences committed against others locals	0	0	0	37	1	39
17	Immoral Traffic (Prevention) Act, 1956	0	1	0	12	1	13
17.1	Under ITP Section 5	0	0	0	2	1	3
17.2	Under ITP Section 6	0	0	0	0	0	0
17.3	Under ITP Section 7	0	0	0	2	0	2
17.4	Under ITP Section 8	0	0	0	1	0	1
17.5	Other Section of ITP Act	0	0	0	7	0	7
18	Juvenile Justice (Care and Protection of Children) Act, 2000	1	1	0	89	2	93
19	Protection of Children from Sexual Offences Act, 2012	0	0	0	47	0	47
19.1	Under POCSO Act Section 4	0	0	0	17	0	17
19.2	Under POCSO Act Section 6	0	0	0	1	0	1
19.3	Under POCSO Act Section 8	0	0	0	19	0	19
19.4	Under POCSO Act Section 10	0	0	0	0	0	0
19.5	Under POCSO Act Sections 14 & 15	0	0	0	0	0	0
19.6	Other Acts of POCSO	0	0	0	10	0	10
20	Attempt to commit Murder	4	0	0	27	0	31
21	Unnatural Offences	1	2	0	66	1	70
22	Human Trafficking	0	0	0	3	0	3
23	Other crimes committed against children	4	3	2	731	114	854
Total crimes against Children		**259**	**2650**	**39**	**6345**	**883**	**10176**

तक्ता क्र. २८ (पूर्ण)

सन २०१५ मध्ये बालकावरील झालेल्या अत्याचाराची पोलीसांनी केलेली निर्गती (गुन्हे शिर्ष-निहाय)

Table No. 28 (Concluded)

Disposal of Crime Committed Against Children Cases by Police (Crime Head-wise) During 2015

Sr. No.	Crime Head	Cases pending investigation at the end of the year (col. 7 - col. 14)	Charge-sheeting Rate Col.12/ (Col.12+13)*100	Cases Pendency Rate {Col.15/(3+4)}x 100
1	2	15	16	17
1	Murder	105	85.0	35.8
2	Infanticide	4	55.6	28.6
3	Rape	1123	99.4	38.2
4	Assault on women with intent to outrage her Modesty	1261	99.2	39.6
4.1	Sexual Harassment	497	99.1	36.1
4.2	Assault on women with intent to Disrobe	39	100.0	43.8
4.3	Voyeurism	11	100.0	50.0
4.4	Stalking	219	98.6	43.3
4.5	Others assault	495	99.4	41.6
5	Insult to the Modesty of Women (Girls Children)	60	98.6	44.4
6	Kidnapping & Abduction_Total	4152	72.1	46.8
6.1	Kidnapping & Abduction	3125	62.4	47.2
6.2	Kidnaping & Abduction in order to Murder	4	100.0	57.1
6.3	Kidnapping for Ransom	6	100.0	54.5
6.4	Kidnapping & Abduction of Women to compel her for marriage	646	95.9	48.7
6.5	Other Kidnapping	371	79.4	40.9
7	Foeticide	4	63.6	23.5
8	Abetment of Suicide of child	10	100.0	41.7
9	Exposure and Abandonment	174	14.3	44.1
10	Procuration of minor girls	9	75.0	52.9
11	Importation of Girls from Foreign Country	0		0.0
12	Buying of minors for prostitution	6	100.0	50.0
13	Selling of minors for prostitution	7	100.0	87.5
14	Prohibition of Child Marriage Act, 2006	8	100.0	23.5
15	Transplantation of Human Organs Act, 1994	0		0.0
16	Child Labour (Prohibition & Regulation) Act, 1986	81	98.2	58.7
16.1	Offences committed against Migrant	11	100.0	37.9
16.1.1	Offences committed against SC migrants	2		100.0
16.1.2	Offences committed against ST migrants	0		0.0
16.1.3	Offences committed against others migrants	9	100.0	33.3
16.2	Offences committed against Locals	70	97.4	64.2
16.2.1	Offences committed against Local SCs	0		0.0
16.2.2	Offences committed against Local STs	0		0.0
16.2.3	Offences committed against others locals	70	97.4	64.2
17	Immoral Traffic (Prevention) Act, 1956	42	92.3	76.4
17.1	Under ITP Section 5	19	66.7	86.4
17.2	Under ITP Section 6	0		0.0
17.3	Under ITP Section 7	11	100.0	84.6
17.4	Under ITP Section 8	0	100.0	0.0
17.5	Other Section of ITP Act	12	100.0	63.2
18	Juvenile Justice (Care and Protection of Children) Act, 2000	185	97.8	66.5
19	Protection of Children from Sexual Offences Act, 2012	33	100.0	41.3
19.1	Under PCSO Act Section 4	8	100.0	32.0
19.2	Under PCSO Act Section 6	2	100.0	66.7
19.3	Under PCSO Act Section 8	18	100.0	48.6
19.4	Under PCSO Act Section 10	1		100.0
19.5	Under PCSO Act Sections 14 & 15	0		0.0
19.6	Other Acts of PCSO	4	100.0	28.6
20	Attempt to commit Murder	27	100.0	46.6
21	Unnatural Offences	63	98.5	47.4
22	Human Trafficking	3	100.0	50.0
23	Other crimes committed against children	1048	86.5	55.1
Total crimes against Children		**8405**	**87.8**	**45.2**

तक्ता क्र. २९ (पुढे चालू)

सन २०१५ मध्ये बालकावरील झालेल्या अत्याचाराची कोर्टाने केलेली निर्गती (गुन्हे शिर्ष-निहाय)

Table No.29 (Continued)

Disposal of Cases by Courts For Crimes Committed Against Children During 2015

Sr. No.	Crime Head	Cases pending trial from the previous year (col.21)	Cases sent for trial during the year	No. of cases withdrawn by the Govt.	No. Of cases disposed by Plea Bargaining.	Total no. Of cases for trial during the year Col.7=Col.3+4 - Col.5 - col. 6	Cases compounded or withdrawn
1	2	3	4	5	6	7	8
1	Murder	1192	147	0	0	1339	0
2	Infanticide	28	5	0	0	33	0
3	Rape	7431	1793	0	0	9224	2
4	Assault on women with intent to outrage her Modesty	3375	1878	0	0	5253	14
4.1	Sexual Harassment	936	851	0	0	1787	4
4.2	Assault on women with intent to Disrobe	57	50	0	0	107	0
4.3	Voyeurism	11	11	0	0	22	0
4.4	Stalking	186	283	0	0	469	1
4.5	Others assault	2185	683	0	0	2868	9
5	Insult to the Modesty of Women (Girls Children)	274	73	0	0	347	0
6	Kidnapping & Abduction_Total	4737	1329	0	0	6066	5
6.1	Kidnapping & Abduction	2055	764	0	0	2819	1
6.2	Kidnaping & Abduction in order to Murder	5	1	0	0	6	0
6.3	Kidnapping for Ransom	21	4	0	0	25	0
6.4	Kidnapping & Abduction of Women to compel her for marriage	1956	425	0	0	2381	1
6.5	Other Kidnapping	700	135	0	0	835	3
7	Foeticide	35	7	0	0	42	0
8	Abetment of Suicide of child	77	14	0	0	91	0
9	Exposure and Abandonment	484	31	0	0	515	0
10	Procuration of minor girls	195	6	0	0	201	0
11	Importation of Girls from Foreign Country	0	0	0	0	0	0
12	Buying of minors for prostitution	128	6	0	0	134	0
13	Selling of minors for prostitution	20	1	0	0	21	0
14	Prohibition of Child Marriage Act, 2006	108	25	0	0	133	0
15	Transplantation of Human Organs Act, 1994	0	0	0	0	0	0
16	Child Labour (Prohibition & Regulation) Act, 1986	20	55	0	0	75	0
16.1	Offences committed against Migrant	0	18	0	0	18	0
16.1.1	Offences committed against SC migrants	0	0	0	0	0	0
16.1.2	Offences committed against ST migrants	0	0	0	0	0	0
16.1.3	Offences committed against others migrants	0	18	0	0	18	0
16.2	Offences committed against Locals	20	37	0	0	57	0
16.2.1	Offences committed against Local SCs	0	0	0	0	0	0
16.2.2	Offences committed against Local STs	0	0	0	0	0	0
16.2.3	Offences committed against others locals	20	37	0	0	57	0
17	Immoral Traffic (Prevention) Act, 1956	166	12	0	0	178	0
17.1	Under ITP Section 5	34	2	0	0	36	0
17.2	Under ITP Section 6	7	0	0	0	7	0
17.3	Under ITP Section 7	73	2	0	0	75	0
17.4	Under ITP Section 8	4	1	0	0	5	0
17.5	Other Section of ITP Act	48	7	0	0	55	0
18	Juvenile Justice (Care and Protection of Children) Act, 2000	32	89	0	0	121	2
19	Protection of Children from Sexual Offences Act, 2012	184	47	0	0	231	0
19.1	Under PCSO Act Section 4	78	17	0	0	95	0
19.2	Under PCSO Act Section 6	35	1	0	0	36	0
19.3	Under PCSO Act Section 8	41	19	0	0	60	0
19.4	Under PCSO Act Section 10	5	0	0	0	5	0
19.5	Under PCSO Act Sections 14 & 15	0	0	0	0	0	0
19.6	Other Acts of PCSO	25	10	0	0	35	0
20	Attempt to commit Murder	94	27	0	0	121	0
21	Unnatural Offences	136	66	0	0	202	0
22	Human Trafficking	0	3	0	0	3	0
23	Other crimes committed against children	6517	731	0	0	7248	55
Total crimes against Children		**25233**	**6345**	**0**	**0**	**31578**	**78**

तक्ता क्र. २९ (पूर्ण)

सन २०१५ मध्ये बालकावरील झालेल्या अत्याचाराची कोर्टाने केलेली निर्गती (गुन्हे शिर्ष-निहाय)

Table 29 (Concluded)

Disposal of Cases by Courts For Crimes Committed Against Children During 2015

Sr. No.	Crime Head	Cases in which trials were completed (Col.9= Col. 10+11)	Cases convicted	Cases acquitted or discharged	Cases pending trial at the end of the year (Col.12 = Col.7 – (Col.8+9)	Conviction Rate {(10)/(9) × 100}	Cases Pendency Rate (Col. 12/7)x 100
1	2	9	10	11	12	13	14
1	Murder	73	19	54	1266	26.03	94.5
2	Infanticide	2	1	1	31	50.00	93.9
3	Rape	441	96	345	8781	21.77	95.2
4	Assault on women with intent to outrage her Modesty	421	93	328	4818	22.09	91.7
4.1	Sexual Harassment	151	29	122	1632	19.21	91.3
4.2	Assault on women with intent to Disrobe	7	2	5	100	28.57	93.5
4.3	Voyeurism	0	0	0	22	0.00	100.0
4.4	Stalking	16	5	11	452	31.25	96.4
4.5	Others assault	247	57	190	2612	23.08	91.1
5	Insult to the Modesty of Women (Girls Children)	24	5	19	323	20.83	93.1
6	Kidnapping & Abduction_Total	299	32	267	5762	10.70	95.0
6.1	Kidnapping & Abduction	97	19	78	2721	19.59	96.5
6.2	Kidnaping & Abduction in order to Murder	1	0	1	5	0.00	83.3
6.3	Kidnapping for Ransom	1	0	1	24	0.00	96.0
6.4	Kidnapping & Abduction of Women to compel her for marriage	166	12	154	2214	7.23	93.0
6.5	Other Kidnapping	34	1	33	798	2.94	95.6
7	Foeticide	1	0	1	41	0.00	97.6
8	Abetment of Suicide of child	7	0	7	84	0.00	92.3
9	Exposure and Abandonment	13	1	12	502	7.69	97.5
10	Procuration of minor girls	8	0	8	193	0.00	96.0
11	Importation of Girls from Foreign Country	0	0	0	0	0.00	0.0
12	Buying of minors for prostitution	0	0	0	134	0.00	100.0
13	Selling of minors for prostitution	0	0	0	21	0.00	100.0
14	Prohibition of Child Marriage Act, 2006	6	0	6	127	0.00	95.5
15	Transplantation of Human Organs Act, 1994	0	0	0	0	0.00	0.0
16	Child Labour (Prohibition & Regulation) Act, 1986	2	2	0	73	100.00	97.3
16.1	Offences committed against Migrant	2	2	0	16	100.00	88.9
16.1.1	Offences committed against SC migrants	0	0	0	0	0.00	0.0
16.1.2	Offences committed against ST migrants	0	0	0	0	0.00	0.0
16.1.3	Offences committed against others migrants	2	2	0	16	100.00	88.9
16.2	Offences committed against Locals	0	0	0	57	0.00	100.0
16.2.1	Offences committed against Local SCs	0	0	0	0	0.00	0.0
16.2.2	Offences committed against Local STs	0	0	0	0	0.00	0.0
16.2.3	Offences committed against others locals	0	0	0	57	0.00	100.0
17	Immoral Traffic (Prevention) Act, 1956	6	2	4	172	33.33	96.6
17.1	Under ITP Section 5	3	2	1	33	66.67	91.7
17.2	Under ITP Section 6	0	0	0	7	0.00	100.0
17.3	Under ITP Section 7	0	0	0	75	0.00	100.0
17.4	Under ITP Section 8	0	0	0	5	0.00	100.0
17.5	Other Section of ITP Act	3	0	3	52	0.00	94.5
18	Juvenile Justice (Care and Protection of Children) Act, 2000	8	6	2	111	75.00	91.7
19	Protection of Children from Sexual Offences Act, 2012	6	1	5	225	16.67	97.4
19.1	Under POCSO Act Section 4	0	0	0	95	0.00	100.0
19.2	Under POCSO Act Section 6	0	0	0	36	0.00	100.0
19.3	Under POCSO Act Section 8	5	1	4	55	20.00	91.7
19.4	Under POCSO Act Section 10	0	0	0	5	0.00	100.0
19.5	Under POCSO Act Sections 14 & 15	0	0	0	0	0.00	0.0
19.6	Other Acts of POCSO	1	0	1	34	0.00	97.1
20	Attempt to commit Murder	10	3	7	111	30.00	91.7
21	Unnatural Offences	15	8	7	187	53.33	92.6
22	Human Trafficking	0	0	0	3	0.00	100.0
23	Other crimes committed against children	272	44	228	6921	16.18	95.5
Total crimes against Children		**1614**	**313**	**1301**	**29886**	**19.39**	**94.6**

तक्ता क्र. ३०

सन २०१५ मधील घटक-निहाय बालकांवरील अत्याचाराचे गुन्हे आणि गुन्हयांचे शेकडा प्रमाण.

Table No. 30

Incidences (I) And Percentage Contribution To All MS (P) Of Crimes Committed Against Children During 2015 (Unit-Wise)

Sr. No.	UNIT	Estimated Mid-Year Children Population #	Murder			Infanticide		
			I	V	R	I	V	R
1	2	3	4	5	6	7	8	9
1	Akola	19.13	4	6	0.21	0	0	0.00
2	Amravati Rural	21.76	2	2	2.00	0	0	0.00
3	Buldhana	27.32	9	11	0.33	1	1	0.00
4	Yavatmal	29.57	6	6	0.20	0	0	0.00
5	Washim	12.82	3	3	0.23	0	0	0.00
*	**Amravati Range**	**110.59**	**24**	**28**	**2.98**	**1**	**1**	**0.00**
6	Aurangabad Rural	23.72	7	7	0.30	0	0	0.00
7	Jalna	21.08	2	3	0.09	0	0	0.00
8	Beed	27.76	12	14	0.43	1	1	0.00
9	Osmanabad	17.65	6	7	0.34	0	0	0.00
*	**Aurangabad Range**	**90.21**	**27**	**31**	**1.16**	**1**	**1**	**0.00**
10	Nanded	35.98	7	8	0.19	0	0	0.00
11	Latur	26.31	1	1	0.04	0	0	0.00
12	Parbhani	19.72	3	3	0.15	0	0	0.00
13	Hingoli	12.64	6	7	0.47	0	0	0.00
*	**Nanded Range**	**94.65**	**17**	**19**	**0.86**	**0**	**0**	**0.00**
14	Kolhapur	41.22	2	2	0.05	0	0	0.00
15	Pune Rural	44.48	6	11	0.13	0	0	0.00
16	Sangli	29.98	8	9	0.27	0	0	0.00
17	Satara	31.84	7	7	0.22	0	0	0.00
18	Solapur Rural	35.74	7	10	0.20	0	0	0.00
*	**Kolhapur Range**	**183.25**	**30**	**39**	**0.87**	**0**	**0**	**0.00**
19	Bhandara	12.71	3	3	0.24	0	0	0.00
20	Chandrapur	23.35	4	5	0.17	1	1	0.04
21	Nagpur Rural	22.51	4	4	0.18	0	0	0.00
22	Wardha	13.77	2	2	0.15	0	0	0.00
*	**Nagpur Range**	**72.33**	**13**	**14**	**0.73**	**1**	**1**	**0.04**
23	Gadchiroli	11.42	1	1	0.09	2	2	0.18
24	Gondia	14.06	1	1	0.07	0	0	0.00
*	**Gadchiroli Range**	**25.48**	**2**	**2**	**0.16**	**2**	**2**	**0.18**
25	Ahmednagar	48.02	13	13	0.27	0	0	0.00
26	Dhule	22.02	2	3	0.09	0	0	0.00
27	Jalgaon	45.18	9	9	0.20	0	0	0.00
28	Nasik Rural	47.62	8	10	0.17	0	0	0.00
29	Nandurbar	17.79	3	4	0.17	0	0	0.00
*	**Nasik Range**	**180.64**	**35**	**39**	**0.90**	**0**	**0**	**0.00**
30	Raigad	18.77	4	4	0.21	0	0	0.00
31	Ratnagiri	16.15	0	0	0.00	0	0	0.00
32	Sindhudurg	8.50	1	1	0.12	0	0	0.00
33	Thane Rural	23.97	3	3	0.13	0	0	0.00
34	Palghar	31.61	6	6	0.19	1	1	0.03
*	**Thane Range**	**99.00**	**14**	**14**	**0.65**	**1**	**1**	**0.03**
35	Mumbai Railway	0.00	0	0	0.00	0	0	0.00
36	Pune Railway	0.00	0	0	0.00	0	0	0.00
37	Nagpur Railway	0.00	0	0	0.00	0	0	0.00
*	**Railway Range**	**0.00**	**0**	**0**	**0.00**	**0**	**0**	**0.00**
38	Nagpur Commr.	27.04	2	3	0.07	0	0	0.00
39	Pune Commr.	57.40	6	6	0.10	0	0	0.00
40	Thane Commr.	50.87	5	5	0.10	0	0	0.00
41	Mumbai Commr.	126.30	18	18	0.14	1	1	0.01
42	Nasik Commr.	17.41	2	2	0.11	0	0	0.00
43	Aurangabad Commr.	16.02	4	5	0.25	0	0	0.00
44	Solapur Commr.	10.28	2	2	0.19	0	0	0.00
45	Navi Mumbai	21.38	5	6	0.23	0	0	0.00
46	Amravati Commr.	8.59	1	1	0.12	0	0	0.00
*	**Total Commrs.**	**335.29**	**45**	**48**	**1.33**	**1**	**1**	**0.01**
*	**Total of M.S**	**1191.43**	**207**	**234**	**9.62**	**7**	**7**	**0.3**

तक्ता क्र. ३० (पुढे चालू)

सन २०१५ मधील घटक-निहाय बालकांवरील अत्याचाराचे गुन्हे आणि गुन्हयांचे शेकडा प्रमाण.

Table No. 30 (Continued)

Incidences (I) And Percentage Contribution To All MS (P) Of Crimes Committed Against Children During 2015 (Unit-Wise)

Sr. No.	UNIT	Rape			Assault on Women (Girl Child) with intent to outrage her Modesty								
					Total			Sexual Harassment (Section 354A IPC)			Assault or use of criminal force to women (Girls Children) with intent to Disrobe		
		I	V	R	I	V	R	I	V	R	I	V	R
1	2	10	11	12	13	14	15	16	17	18	19	20	21
1	Akola	24	24	1.25	62	62	3.24	32	32	1.67	4	4	0.21
2	Amravati Rural	76	76	3.49	108	108	4.96	21		0.97	2	2	0.09
3	Buldhana	28	28	1.02	62	64	2.27	45	45	1.65	5	5	0.18
4	Yavatmal	42	42	1.42	78	78	2.64	41	41	1.39	2	2	0.07
5	Washim	14	14	1.09	29	29	2.26	29	29	2.26	0	0	0.00
*	**Amravati Range**	**184**	**184**	**1.66**	**339**	**341**	**3.07**	**168**	**147**	**1.52**	**13**	**13**	**0.12**
6	Aurangabad Rural	20	20	0.84	46	46	1.94	30	30	1.26	0	0	0.00
7	Jalna	7	7	0.33	28	28	1.33	10	10	0.47	0	0	0.00
8	Beed	48	48	1.73	43	43	1.55	26	26	0.94	1	1	0.04
9	Osmanabad	31	31	1.76	21	21	1.19	14	14	0.79	0	0	0.00
*	**Aurangabad Range**	**106**	**106**	**1.18**	**138**	**138**	**1.53**	**80**	**80**	**0.89**	**1**	**1**	**0.01**
10	Nanded	30	30	0.83	25	25	0.69	25	25	0.69	0	0	0.00
11	Latur	22	22	0.84	34	34	1.29	0	0	0.00	0	0	0.00
12	Parbhani	23	23	1.17	17	17	0.86	14	14	0.71	0	0	0.00
13	Hingoli	6	6	0.47	15	15	1.19	8	8	0.63	1	1	0.08
*	**Nanded Range**	**81**	**81**	**0.86**	**91**	**91**	**0.96**	**47**	**47**	**0.50**	**1**	**1**	**0.01**
14	Kolhapur	56	56	1.36	41	41	0.99	9	9	0.22	0	0	0.00
15	Pune Rural	71	71	1.60	82	82	1.84	26	26	0.58	2	2	0.04
16	Sangli	35	35	1.17	36	36	1.20	16	16	0.53	0	0	0.00
17	Satara	69	69	2.17	65	65	2.04	31	31	0.97	3	3	0.09
18	Solapur Rural	68	69	1.90	44	44	1.23	21	21	0.59	2	2	0.06
*	**Kolhapur Range**	**299**	**300**	**1.63**	**268**	**268**	**1.46**	**103**	**103**	**0.56**	**7**	**7**	**0.04**
19	Bhandara	13	14	1.02	25	25	1.97	13	13	1.02	1	1	0.08
20	Chandrapur	80	80	3.43	62	62	2.66	0	0	0.00	0	0	0.00
21	Nagpur Rural	35	35	1.56	39	39	1.73	29	29	1.29	1	1	0.04
22	Wardha	34	34	2.47	55	55	4.00	18	18	1.31	9	9	0.65
*	**Nagpur Range**	**162**	**163**	**2.24**	**181**	**181**	**10.35**	**60**	**60**	**3.62**	**11**	**11**	**0.78**
23	Gadchiroli	22	22	1.93	11	11	0.96	4	4	0.35	1	1	0.00
24	Gondia	29	29	2.06	33	33	2.35	22	22	2.16	0	0	0.00
*	**Gadchiroli Range**	**51**	**51**	**2.00**	**44**	**44**	**1.73**	**26**	**26**	**1.02**	**1**	**1**	**0.04**
25	Ahmednagar	51	51	1.06	48	48	1.00	23	23	0.48	6	6	0.12
26	Dhule	21	21	0.95	18	18	0.82	0	0	0.00	0	0	0.00
27	Jalgaon	33	33	0.73	63	63	1.39	44	44	0.97	0	0	0.00
28	Nasik Rural	72	72	1.51	58	58	1.22	52	52	1.09	0	0	0.00
29	Nandurbar	16	16	0.90	10	10	0.56	10	10	0.56	0	0	0.00
*	**Nasik Range**	**193**	**193**	**1.07**	**197**	**197**	**1.09**	**129**	**129**	**0.71**	**6**	**6**	**0.03**
30	Raigad	55	55	2.93	35	35	1.86	16	16	0.85	1	1	0.05
31	Ratnagiri	29	29	1.80	9	13	0.56	5	5	0.31	0	0	0.00
32	Sindhudurg	17	17	2.00	7	7	0.82	4	4	0.47	0	0	0.00
33	Thane Rural	20	20	0.83	25	25	1.04	1	1	0.04	1	1	0.04
34	Palghar	62	62	1.96	61	61	1.93	24	24	0.76	2	2	0.06
*	**Thane Range**	**183**	**183**	**1.85**	**137**	**141**	**1.38**	**50**	**50**	**0.51**	**4**	**4**	**0.04**
35	Mumbai Railway	5	5	0.00	4	4	0.00	1	1	0.00	0	0	0.00
36	Pune Railway	3	3	0.00	2	2	0.00	0	0	0.00	0	0	0.00
37	Nagpur Railway	3	3	0.00	0	0	0.00	0	0	0.00	0	0	0.00
*	**Railway Range**	**11**	**11**	**0.00**	**6**	**6**	**0.00**	**1**	**1**	**0.00**	**0**	**0**	**0.00**
38	Nagpur Commr.	94	106	3.48	110	110	4.07	44	44	1.63	6	6	0.22
39	Pune Commr.	156	161	2.72	186	197	3.24	103	107	1.79	7	7	0.12
40	Thane Commr.	119	129	2.34	158	158	3.11	0	0	0.00	0	0	0.00
41	Mumbai Commr.	448	448	3.55	411	416	3.25	160	161	1.27	14	14	0.11
42	Nasik Commr.	19	19	1.09	26	26	1.49	15	15	0.86	0	0	0.00
43	Aurangabad Commr.	31	31	1.94	74	75	4.62	19	20	1.19	1	1	0.06
44	Solapur Commr.	11	11	1.07	20	20	1.95	9	9	0.88	0	0	0.00
45	Navi Mumbai	67	72	3.13	36	37	1.68	9	9	0.42	4	4	0.19
46	Amravati Commr.	16	18	1.86	46	48	5.36	20	20	2.33	1	1	0.12
*	**Total Commrs.**	**961**	**995**	**2.87**	**1067**	**1087**	**3.18**	**379**	**385**	**1.13**	**33**	**33**	**0.10**
*	**Total of M.S**	**2231**	**2267**	**1.87**	**2468**	**2494**	**2.07**	**1043**	**1028**	**0.88**	**77**	**77**	**0.06**

तक्ता क्र. ३० (पुढे चालू)

सन २०१५ मधील घटक-निहाय बालकांवरील अत्याचाराचे गुन्हे आणि गुन्हयांचे शेकडा प्रमाण.

Table No. 30 (Continued)

Incidences (I) And Percentage Contribution To All MS (P) Of Crimes Committed Against Children During 2015 (Unit-Wise)

Sr. No.	UNIT	Assault on Women (Girl Child) with intent to outrage her Modesty									Insult to the Modesty of Women (Girls Children)		
		Voyeurism			Stalking			Others					
		I	V	R	I	V	R	I	V	R	I	V	R
1	2	22	23	24	25	26	27	28	29	30	31	32	33
1	Akola	1	1	0.05	8	8	0.42	17	17	0.89	0	0	0.00
2	Amravati Rural	0	0	0.00	48	48	2.21	37		1.70	7	7	0.32
3	Buldhana	0	0	0.00	11	11	0.40	1	3	0.04	2	2	0.07
4	Yavatmal	0	0	0.00	3	3	0.10	32	32	1.08	4	4	0.14
5	Washim	0	0	0.00	0	0	0.00	0	0	0.00	0	0	0.00
*	**Amravati Range**	**1**	**1**	**0.01**	**70**	**70**	**0.63**	**87**	**52**	**0.79**	**13**	**13**	**0.12**
6	Aurangabad Rural	0	0	0.00	9	9	0.38	7	7	0.30	0	0	0.00
7	Jalna	0	0	0.00	0	0	0.00	18	18	0.85	0	0	0.00
8	Beed	0	0	0.00	7	7	0.25	9	9	0.32	0	0	0.00
9	Osmanabad	0	0	0.00	7	7	0.40	0	0	0.00	0	0	0.00
*	**Aurangabad Range**	**0**	**0**	**0.00**	**23**	**23**	**0.25**	**34**	**34**	**0.38**	**0**	**0**	**0.00**
10	Nanded	0	0	0.00	0	0	0.00	0	0	0.00	2	2	0.06
11	Latur	0	0	0.00	0	0	0.00	34	34	1.29	0	0	0.00
12	Parbhani	0	0	0.00	2	2	0.10	1	1	0.05	0	0	0.00
13	Hingoli	0	0	0.00	3	3	0.24	3	3	0.24	3	3	0.24
*	**Nanded Range**	**0**	**0**	**0.00**	**5**	**5**	**0.05**	**38**	**38**	**0.40**	**5**	**5**	**0.05**
14	Kolhapur	0	0	0.00	7	7	0.17	25	25	0.61	0	0	0.00
15	Pune Rural	0	0	0.00	19	19	0.43	35	35	0.79	13	13	0.29
16	Sangli	1	1	0.03	1	1	0.03	18	18	0.60	1	1	0.03
17	Satara	0	0	0.00	17	17	0.53	14	14	0.44	0	0	0.00
18	Solapur Rural	1	1	0.03	13	13	0.36	7	7	0.20	1	1	0.03
*	**Kolhapur Range**	**2**	**2**	**0.01**	**57**	**57**	**0.31**	**99**	**99**	**0.54**	**15**	**15**	**0.08**
19	Bhandara	2	2	0.16	9	9	0.71	0	0	0.00	0	0	0.00
20	Chandrapur	0	0	0.00	0	0	0.00	62	62	2.66	0	0	0.00
21	Nagpur Rural	0	0	0.00	7	7	0.31	2	2	0.09	1	1	0.04
22	Wardha	0	0	0.00	5	5	0.36	23	23	1.67	1	1	0.07
*	**Nagpur Range**	**2**	**2**	**0.03**	**21**	**21**	**0.29**	**87**	**87**	**1.20**	**2**	**2**	**0.03**
23	Gadchiroli	0	0	0.00	1	1	0.09	5	5	0.44	0	0	0.00
24	Gondia	0	0	0.00	0	0	0.00	11	11	0.78	0	0	0.00
*	**Gadchiroli Range**	**0**	**0**	**0.00**	**1**	**1**	**0.04**	**16**	**16**	**0.63**	**0**	**0**	**0.00**
25	Ahmednagar	3	3	0.06	11	11	0.23	5	5	0.10	0	0	0.00
26	Dhule	0	0	0.00	0	0	0.00	18	18	0.82	0	0	0.00
27	Jalgaon	0	0	0.00	0	0	0.00	19	19	0.42	5	5	0.11
28	Nasik Rural	0	0	0.00	0	0	0.00	6	6	0.13	0	0	0.00
29	Nandurbar	0	0	0.00	0	0	0.00	0	0	0.00	0	0	0.00
*	**Nasik Range**	**3**	**3**	**0.02**	**11**	**11**	**0.06**	**48**	**48**	**0.27**	**5**	**5**	**0.03**
30	Raigad	0	0	0.00	12	12	0.64	6	6	0.32	3	3	0.16
31	Ratnagiri	1	5	0.06	1	1	0.06	2	2	0.12	0	0	0.00
32	Sindhudurg	0	0	0.00	3	3	0.35	0	0	0.00	0	0	0.00
33	Thane Rural	0	0	0.00	1	1	0.04	22	22	0.92	2	2	0.08
34	Palghar	0	0	0.00	5	5	0.16	30	30	0.95	2	2	0.06
*	**Thane Range**	**1**	**5**	**0.01**	**22**	**22**	**0.22**	**60**	**60**	**0.61**	**7**	**7**	**0.07**
35	Mumbai Railway	0	0	0.00	1	1	0.00	2	2	0.00	0	0	0.00
36	Pune Railway	0	0	0.00	0	0	0.00	2	2	0.00	0	0	0.00
37	Nagpur Railway	0	0	0.00	0	0	0.00	0	0	0.00	0	0	0.00
*	**Railway Range**	**0**	**0**	**0.00**	**1**	**1**	**0.00**	**4**	**4**	**0.00**	**0**	**0**	**0.00**
38	Nagpur Commr.	2	2	0.07	28	28	1.04	30	30	1.11	2	2	0.07
39	Pune Commr.	0	0	0.00	39	39	0.68	37	44	0.64	8	8	0.14
40	Thane Commr.	0	0	0.00	13	13	0.26	145	145	2.85	7	7	0.14
41	Mumbai Commr.	1	1	0.01	76	79	0.60	160	161	1.27	21	21	0.17
42	Nasik Commr.	0	0	0.00	2	2	0.11	9	9	0.52	0	0	0.00
43	Aurangabad Commr.	0	0	0.00	40	40	2.50	14	14	0.87	1	1	0.06
44	Solapur Commr.	0	0	0.00	0	0	0.00	11	11	1.07	1	1	0.10
45	Navi Mumbai	0	0	0.00	5	5	0.23	18	19	0.84	2	2	0.09
46	Amravati Commr.	0	0	0.00	8	8	0.93	17	19	1.98	2	2	0.23
*	**Total Commrs.**	**3**	**3**	**0.01**	**211**	**214**	**0.63**	**441**	**452**	**1.32**	**44**	**44**	**0.13**
*	**Total of M.S**	**12**	**16**	**0.01**	**422**	**425**	**0.35**	**914**	**890**	**0.77**	**91**	**91**	**0.08**

तक्ता क्र. ३० (पुढे चालू)

सन २०१५ मधील घटक-निहाय बालकांवरील अत्याचाराचे गुन्हे आणि गुन्हयांचे शेकडा प्रमाण.

Table No. 30 (Continued)

Incidences (I) And Percentage Contribution To All MS (P) Of Crimes Committed Against Children During 2015 (Unit-Wise)

Sr. No.	UNIT	Kidnapping & Abduction (Section 363,364,364A, 366 IPC)											
		K & A TOTAL			Kidnapping & Adbuction (Section 363 IPC)			K & A order to Murder (Section 364 IPC)			Kidnapping for Ransom, etc (Section 364A IPC)		
		I	V	R	I	V	R	I	V	R	I	V	R
1	2	34	35	36	37	38	39	40	41	42	43	44	45
1	Akola	70	74	3.66	57	61	2.98	0		0.00	0	0	0.00
2	Amravati Rural	81	81	3.72	19	19	0.87	0	0	0.00	0	0	0.00
3	Buldhana	28	29	1.02	14	14	0.51	1	1	0.04	0	0	0.00
4	Yavatmal	105	105	8.19	45	45	3.51	0	0	0.00	0	0	0.00
5	Washim	33	33	0.30	21	21	0.19	0	0	0.00	0	0	0.00
*	**Amravati Range**	**317**	**322**	**13.37**	**156**	**160**	**6.58**	**1**	**1**	**0.04**	**0**	**0**	**0.00**
6	Aurangabad Rural	64	64	2.70	30	30	1.26	2	2	0.08	0	0	0.00
7	Jalna	10	10	0.47	3	3	0.14	0	0	0.00	0	0	0.00
8	Beed	80	89	2.88	49	57	1.77	0	0	0.00	0	0	0.00
9	Osmanabad	54	55	3.06	31	32	1.76	0	0	0.00	0	0	0.00
*	**Aurangabad Range**	**208**	**218**	**5.78**	**113**	**122**	**3.14**	**2**	**2**	**0.06**	**0**	**0**	**0.00**
10	Nanded	116	126	3.22	0	0	0.00	0	0	0.00	0	0	0.00
11	Latur	103	103	3.92	0	0	0.00	0	0	0.00	0	0	0.00
12	Parbhani	82	84	4.16	69	69	3.50	0	0	0.00	0	0	0.00
13	Hingoli	26	29	2.06	21	24	1.66	0	0	0.00	0	0	0.00
*	**Nanded Range**	**327**	**342**	**7.93**	**90**	**93**	**2.18**	**0**	**0**	**0.00**	**0**	**0**	**0.00**
14	Kolhapur	89	89	2.16	6	6	0.15	0	0	0.00	1	1	0.02
15	Pune Rural	353	367	7.94	282	291	6.34	0	0	0.00	0	0	0.00
16	Sangli	109	109	3.64	54	54	1.80	0	0	0.00	0	0	0.00
17	Satara	191	202	6.00	146	157	4.59	0	0	0.00	0	0	0.00
18	Solapur Rural	105	106	0.57	63	64	0.34	0	0	0.00	0	0	0.00
*	**Kolhapur Range**	**847**	**873**	**66.64**	**551**	**572**	**43.35**	**0**	**0**	**0.00**	**1**	**1**	**0.08**
19	Bhandara	61	62	4.80	56	57	4.41	0	0	0.00	0	0	0.00
20	Chandrapur	125	130	5.35	0	0	0.00	0	0	0.00	0	0	0.00
21	Nagpur Rural	77	77	3.42	64	64	2.84	0	0	0.00	0	0	0.00
22	Wardha	76	78	5.52	50	52	3.63	0	0	0.00	0	0	0.00
*	**Nagpur Range**	**339**	**347**	**29.69**	**170**	**173**	**14.89**	**0**	**0**	**0.00**	**0**	**0**	**0.00**
23	Gadchiroli	20	23	1.75	2	2	0.18	0	0	0.00	0	0	0.00
24	Gondia	62	62	4.41	57	57	4.05	0	0	0.00	0	0	0.00
*	**Gadchiroli Range**	**82**	**85**	**1.71**	**59**	**59**	**1.23**	**0**	**0**	**0.00**	**0**	**0**	**0.00**
25	Ahmednagar	130	130	2.71	79	79	1.65	0	0	0.00	0	0	0.00
26	Dhule	22	22	1.00	0	0	0.00	0	0	0.00	0	0	0.00
27	Jalgaon	95	96	2.10	0	0	0.00	1	1	0.02	0	0	0.00
28	Nasik Rural	90	93	1.89	52	55	1.09	0	0	0.00	0	0	0.00
29	Nandurbar	14	19	0.79	14	19	0.79	0	0	0.00	0	0	0.00
*	**Nasik Range**	**351**	**360**	**18.70**	**145**	**153**	**7.73**	**1**	**1**	**0.05**	**0**	**0**	**0.00**
30	Raigad	66	66	3.52	66	66	3.52	0	0	0.00	0	0	0.00
31	Ratnagiri	48	51	2.97	48	51	2.97	0	0	0.00	0	0	0.00
32	Sindhudurg	14	14	1.65	0	0	0.00	0	0	0.00	0	0	0.00
33	Thane Rural	108	119	4.51	63	72	2.63	0	0	0.00	0	0	0.00
34	Palghar	344	345	10.88	340	340	10.76	0	0	0.00	3	3	0.09
*	**Thane Range**	**580**	**595**	**0.00**	**517**	**529**	**0.00**	**0**	**0**	**0.00**	**3**	**3**	**0.00**
35	Mumbai Railway	22	25	0.00	22	25	0.00	0	0	0.00	0	0	0.00
36	Pune Railway	10	11	0.00	10	11	0.00	0	0	0.00	0	0	0.00
37	Nagpur Railway	10	10	0.00	0	0	0.00	0	0	0.00	0	0	0.00
*	**Railway Range**	**42**	**46**	**1.55**	**32**	**36**	**1.18**	**0**	**0**	**0.00**	**0**	**0**	**0.00**
38	Nagpur Commr.	326	331	12.06	302	302	11.17	0	0	0.00	0	0	0.00
39	Pune Commr.	635	665	11.06	489	508	8.52	1	1	0.02	1	1	0.02
40	Thane Commr.	696	697	13.68	651	652	12.80	0	0	0.00	0	0	0.00
41	Mumbai Commr.	1520	1540	12.03	1454	1474	11.51	0	0	0.00	1	1	0.01
42	Nasik Commr.	156	166	8.96	151	160	8.67	0	0	0.00	1	1	0.06
43	Aurangabad Commr.	140	154	8.74	109	122	6.80	0	0	0.00	1	1	0.06
44	Solapur Commr.	59	59	5.74	27	27	2.63	0	0	0.00	0	0	0.00
45	Navi Mumbai	238	245	11.13	236	243	11.04	0	0	0.00	0	0	0.00
46	Amravati Commr.	97	105	11.29	85	93	9.90	0	0	0.00	0	0	0.00
*	**Total Commrs.**	**3867**	**3962**	**3.25**	**3504**	**3581**	**2.94**	**1**	**1**	**0.00**	**4**	**4**	**0.00**
*	**Total of M.S**	**6960**	**7150**	**0.00**	**5337**	**5478**	**0.00**	**5**	**5**	**0.00**	**8**	**8**	**0.00**

तक्ता क्र. ३० (पुढे चालू)

सन २०१५ मधील घटक-निहाय बालकांवरील अत्याचाराचे गुन्हे आणि गुन्हयांचे शेकडा प्रमाण.

Table No. 30 (Continued)

Incidences (I) And Percentage Contribution To All MS (P) Of Crimes Committed Against Children During 2015 (Unit-Wise)

Sr. No.	UNIT	Kidnapping & Abduction (Section 363,364,364A, 366 IPC)						Foeticide			Abetment of Suicide of Child		
		K & A of Women to compel her marriage (Section 366 IPC)			Others								
		I	V	R	I	V	R	I	V	R	I	V	R
1	2	46	47	48	49	50	51	52	53	54	55	56	57
1	Akola	11	11	0.58	2	2	0.10	0	0	0.00	0	0	0.00
2	Amravati Rural	62	62	2.85	0	0	0.00	0		0.00	0	0	0.00
3	Buldhana	12	12	0.44	1	2	0.04	0	0	0.00	1	1	0.04
4	Yavatmal	59	59	2.00	1	1	0.03	1	1	0.03	0	0	0.00
5	Washim	12	12	0.94	0	0	0.00	0	0	0.00	1	1	0.08
*	**Amravati Range**	**156**	**156**	**1.41**	**4**	**5**	**0.04**	**1**	**1**	**0.01**	**2**	**2**	**0.02**
6	Aurangabad Rural	19	19	0.80	13	13	0.55	1	1	0.04	0	0	0.00
7	Jalna	3	3	0.14	4	4	0.19	0	0	0.00	0	0	0.00
8	Beed	22	22	0.79	9	10	0.32	0	0	0.00	0	0	0.00
9	Osmanabad	23	23	1.30	0	0	0.00	0	0	0.00	0	0	0.00
*	**Aurangabad Range**	**67**	**67**	**0.74**	**26**	**27**	**0.29**	**1**	**1**	**0.01**	**0**	**0**	**0.00**
10	Nanded	40	40	1.11	76	86	2.11	0	0	0.00	0	0	0.00
11	Latur	47	47	1.79	56	56	2.13	0	0	0.00	0	0	0.00
12	Parbhani	9	9	0.46	4	6	0.20	0	0	0.00	1	1	0.05
13	Hingoli	5	5	0.40	0	0	0.00	0	0	0.00	0	0	0.00
*	**Nanded Range**	**101**	**101**	**1.07**	**136**	**148**	**1.44**	**0**	**0**	**0.00**	**1**	**1**	**0.01**
14	Kolhapur	57	57	1.38	25	25	0.61	0	0	0.00	0	0	0.00
15	Pune Rural	39	39	0.88	32	37	0.72	0	0	0.00	0	0	0.00
16	Sangli	45	45	1.50	10	10	0.33	1	1	0.03	3	3	0.10
17	Satara	45	45	1.41	0	0	0.00	0	0	0.00	0	0	0.00
18	Solapur Rural	40	40	1.12	2	2	0.06	0	0	0.00	0	0	0.00
*	**Kolhapur Range**	**226**	**226**	**1.23**	**69**	**74**	**0.38**	**1**	**1**	**0.01**	**3**	**3**	**0.10**
19	Bhandara	5	5	0.39	0	0	0.00	0	0	0.00	1	1	0.08
20	Chandrapur	42	43	1.80	83	87	3.55	1	1	0.04	0	0	0.00
21	Nagpur Rural	13	13	0.58	0	0	0.00	0	0	0.00	2	2	0.09
22	Wardha	26	26	1.89	0	0	0.00	0	0	0.00	0	0	0.00
*	**Nagpur Range**	**86**	**87**	**4.66**	**83**	**87**	**3.55**	**1**	**1**	**0.04**	**3**	**3**	**0.17**
23	Gadchiroli	14	15	1.23	4	6	0.35	0	0	0.00	0	0	0.00
24	Gondia	0	0	0.00	5	5	0.36	0	0	0.00	0	0	0.00
*	**Gadchiroli Range**	**14**	**15**	**1.23**	**9**	**11**	**0.71**	**0**	**0**	**0.00**	**0**	**0**	**0.00**
25	Ahmednagar	51	51	1.06	0	0	0.00	0	0	0.00	0	0	0.00
26	Dhule	6	6	0.27	16	16	0.73	0	0	0.00	0	0	0.00
27	Jalgaon	87	88	1.93	7	7	0.15	1	1	0.02	1	1	0.02
28	Nasik Rural	24	24	0.50	14	14	0.29	0	0	0.00	0	0	0.00
29	Nandurbar	0	0	0.00	0	0	0.00	0	0	0.00	1	1	0.06
*	**Nasik Range**	**168**	**169**	**3.76**	**37**	**37**	**1.18**	**1**	**1**	**0.02**	**2**	**2**	**0.08**
30	Raigad	0	0	0.00	0	0	0.00	0	0	0.00	0	0	0.00
31	Ratnagiri	0	0	0.00	0	0	0.00	0	0	0.00	1	1	0.06
32	Sindhudurg	6	6	0.71	8	8	0.94	0	0	0.00	0	0	0.00
33	Thane Rural	0	0	0.00	45	47	1.88	0	0	0.00	1	1	0.04
34	Palghar	0	0	0.00	1	2	0.03	0	0	0.00	0	0	0.00
*	**Thane Range**	**6**	**6**	**0.71**	**54**	**57**	**2.85**	**0**	**0**	**0.00**	**2**	**2**	**0.10**
35	Mumbai Railway	0	0	0.00	0	0	0.00	0	0	0.00	0	0	0.00
36	Pune Railway	0	0	0.00	0	0	0.00	0	0	0.00	0	0	0.00
37	Nagpur Railway	0	0	0.00	10	10	0.00	0	0	0.00	0	0	0.00
*	**Railway Range**	**0**	**0**	**0.00**	**10**	**10**	**0.00**	**0**	**0**	**0.00**	**0**	**0**	**0.00**
38	Nagpur Commr.	24	29	0.89	0	0	0.00	2	2	0.07	0	0	0.00
39	Pune Commr.	34	35	0.59	110	120	1.92	0	0	0.00	0	0	0.00
40	Thane Commr.	0	0	0.00	45	45	0.88	0	0	0.00	0	0	0.00
41	Mumbai Commr.	5	5	0.04	60	60	0.48	2	2	0.02	0	0	0.00
42	Nasik Commr.	3	4	0.17	1	1	0.06	0	0	0.00	0	0	0.00
43	Aurangabad Commr.	12	12	0.75	18	19	1.12	0	0	0.00	0	0	0.00
44	Solapur Commr.	31	31	3.02	1	1	0.10	1	1	0.10	0	0	0.00
45	Navi Mumbai	1	1	0.05	1	1	0.05	1	1	0.05	0	0	0.00
46	Amravati Commr.	11	11	1.28	1	1	0.12	0	0	0.00	0	0	0.00
*	**Total Commrs.**	**121**	**128**	**6.79**	**237**	**248**	**4.72**	**6**	**6**	**0.23**	**0**	**0**	**0.00**
*	**Total of M.S**	**945**	**955**	**12.68**	**665**	**704**	**9.44**	**11**	**11**	**0.39**	**13**	**13**	**0.00**

तक्ता क्र. ३० (पुढे चालू)

सन २०१५ मधील घटक-निहाय बालकांवरील अत्याचाराचे गुन्हे आणि गुन्हयांचे शेकडा प्रमाण.

Table No. 30 (Continued)

Incidences (I) And Percentage Contribution To All MS (P) Of Crimes Committed Against Children During 2015 (Unit-Wise)

Sr. No.	UNIT	Exposure and Abandonment			Procuration Of Minor Girls			Importation of Girls from Foreign Country			Buying of minors for Prostitution		
		I	V	R	I	V	R	I	V	R	I	V	R
1	2	58	59	60	61	62	63	64	65	66	67	68	69
1	Akola	10	10	0.52	0	0	0.00	0	0	0.00	0	0	0.00
2	Amravati Rural	2	2	0.09	0	0	0.00	0	0	0.00	0	0	0.00
3	Buldhana	4	4	0.15	0	0	0.00	0		0.00	0	0	0.00
4	Yavatmal	5	5	0.18	0	0	0.00	0	0	0.00	0	0	0.00
5	Washim	3	3	0.10	0	0	0.00	0	0	0.00	0	0	0.00
*	**Amravati Range**	**24**	**24**	**1.05**	**0**	**0**	**0.00**	**0**	**0**	**0.00**	**0**	**0**	**0.00**
6	Aurangabad Rural	0	0	0.00	0	0	0.00	0	0	0.00	0	0	0.00
7	Jalna	5	5	0.24	0	0	0.00	0	0	0.00	0	0	0.00
8	Beed	1	1	0.04	0	0	0.00	0	0	0.00	0	0	0.00
9	Osmanabad	2	2	0.11	0	0	0.00	0	0	0.00	0	0	0.00
*	**Aurangabad Range**	**8**	**8**	**0.39**	**0**	**0**	**0.00**	**0**	**0**	**0.00**	**0**	**0**	**0.00**
10	Nanded	20	20	0.56	0	0	0.00	0	0	0.00	0	0	0.00
11	Latur	0	0	0.00	0	0	0.00	0	0	0.00	0	0	0.00
12	Parbhani	9	9	0.46	0	0	0.00	0	0	0.00	0	0	0.00
13	Hingoli	4	4	0.32	0	0	0.00	0	0	0.00	0	0	0.00
*	**Nanded Range**	**33**	**33**	**1.33**	**0**	**0**	**0.00**	**0**	**0**	**0.00**	**0**	**0**	**0.00**
14	Kolhapur	1	1	0.02	0	0	0.00	0	0	0.00	0	0	0.00
15	Pune Rural	8	8	0.18	0	0	0.00	0	0	0.00	0	0	0.00
16	Sangli	12	12	0.40	0	0	0.00	0	0	0.00	0	0	0.00
17	Satara	8	8	0.25	0	0	0.00	0	0	0.00	0	0	0.00
18	Solapur Rural	3	3	0.09	0	0	0.00	0	0	0.00	0	0	0.00
*	**Kolhapur Range**	**32**	**32**	**0.95**	**0**	**0**	**0.00**	**0**	**0**	**0.00**	**0**	**0**	**0.00**
19	Bhandara	1	1	0.08	1	1	0.08	0	0	0.00	0	0	0.00
20	Chandrapur	1	1	0.04	0	0	0.00	0	0	0.00	0	0	0.00
21	Nagpur Rural	0	0	0.00	0	0	0.00	0	0	0.00	0	0	0.00
22	Wardha	1	1	0.07	0	0	0.00	0	0	0.00	0	0	0.00
*	**Nagpur Range**	**3**	**3**	**0.19**	**1**	**1**	**0.08**	**0**	**0**	**0.00**	**0**	**0**	**0.00**
23	Gadchiroli	0	0	0.00	0	0	0.00	0	0	0.00	0	0	0.00
24	Gondia	0	0	0.00	0	0	0.00	0	0	0.00	0	0	0.00
*	**Gadchiroli Range**	**0**	**0**	**0.00**	**0**	**0**	**0.00**	**0**	**0**	**0.00**	**0**	**0**	**0.00**
25	Ahmednagar	14	14	0.29	0	0	0.00	0	0	0.00	0	0	0.00
26	Dhule	10	10	0.45	0	0	0.00	0	0	0.00	0	0	0.00
27	Jalgaon	1	1	0.02	4	4	0.09	0	0	0.00	0	0	0.00
28	Nasik Rural	13	13	0.27	0	0	0.00	0	0	0.00	0	0	0.00
29	Nandurbar	3	3	0.17	0	0	0.00	0	0	0.00	0	0	0.00
*	**Nasik Range**	**41**	**41**	**1.21**	**4**	**4**	**0.09**	**0**	**0**	**0.00**	**0**	**0**	**0.00**
30	Raigad	0	0	0.00	1	1	0.00	0	0	0.00	0	0	0.00
31	Ratnagiri	3	3	0.19	0	0	0.00	0	0	0.00	0	0	0.00
32	Sindhudurg	0	0	0.00	0	0	0.00	0	0	0.00	0	0	0.00
33	Thane Rural	3	3	0.13	0	0	0.00	0	0	0.00	0	0	0.00
34	Palghar	2	2	0.06	0	0	0.00	0	0	0.00	0	0	0.00
*	**Thane Range**	**8**	**8**	**0.37**	**1**	**1**	**0.00**	**0**	**0**	**0.00**	**0**	**0**	**0.00**
35	Mumbai Railway	11	11	0.00	0	0	0.00	0	0	0.00	0	0	0.00
36	Pune Railway	5	5	0.00	0	0	0.00	0	0	0.00	0	0	0.00
37	Nagpur Railway	9	9	0.00	0	0	0.00	0	0	0.00	0	0	0.00
*	**Railway Range**	**25**	**25**	**0.00**	**0**	**0**	**0.00**	**0**	**0**	**0.00**	**0**	**0**	**0.00**
38	Nagpur Commr.	5	5	0.18	0	0	0.00	0	0	0.00	7	7	0.26
39	Pune Commr.	9	9	0.16	0	0	0.00	0	0	0.00	0	0	0.00
40	Thane Commr.	8	8	0.16	0	0	0.00	0	0	0.00	0	0	0.00
41	Mumbai Commr.	9	9	0.07	0	0	0.00	0	0	0.00	0	0	0.00
42	Nasik Commr.	2	2	0.11	0	0	0.00	0	0	0.00	0	0	0.00
43	Aurangabad Commr.	5	6	0.31	0	0	0.00	0	0	0.00	0	0	0.00
44	Solapur Commr.	1	1	0.10	0	0	0.00	0	0	0.00	0	0	0.00
45	Navi Mumbai	4	4	0.19	0	0	0.00	0	0	0.00	0	0	0.00
46	Amravati Commr.	2	2	0.23	0	0	0.00	0	0	0.00	0	0	0.00
*	**Total Commrs.**	**45**	**46**	**1.51**	**0**	**0**	**0.00**	**0**	**0**	**0.00**	**7**	**7**	**0.26**
*	**Total of M.S**	**219**	**220**	**7.00**	**6**	**6**	**0.17**	**0**	**0**	**0.00**	**7**	**7**	**0.26**

तक्ता क्र. ३० (पुढे चालू)

सन २०१५ मधील घटक-निहाय बालकांवरील अत्याचाराचे गुन्हे आणि गुन्हयांचे शेकडा प्रमाण.

Table No. 30 (Continued)

Incidences (I) And Percentage Contribution To All MS (P) Of Crimes Committed Against Children During 2015 (Unit-Wise)

Sr. No.	UNIT	Selling of minors for Prostitution			Prohibition of Child Marriage Act			Transplantation of Human Organs Act			Child Labour (Prohibition and Regulation) Act,1986		
											Child Labour (P) Act Total		
		I	V	R	I	V	R	I	V	R	I	V	R
1	2	70	71	72	73	74	75	76	77	78	79	80	81
1	Akola	0	0	0.00	1	1	0.00	0	0	0.00	0	0	0.00
2	Amravati Rural	0	0	0.00	0	0	0.00	0		0.00	0	0	0.00
3	Buldhana	0	0	0.00	0	0	0.00	0	0	0.00	2	2	0.10
4	Yavatmal	0	0	0.00	0	0	0.00	0	0	0.00	1	1	0.00
5	Washim	0	0	0.00	0	0	0.00	0	0	0.00	0	0	0.00
*	**Amravati Range**	**0**	**0**	**0.00**	**1**	**1**	**0.00**	**0**	**0**	**0.00**	**3**	**3**	**0.10**
6	Aurangabad Rural	0	0	0.00	0	0	0.00	0	0	0.00	0	0	0.00
7	Jalna	0	0	0.00	0	0	0.00	0	0	0.00	0	0	0.00
8	Beed	0	0	0.00	3	3	0.10	0	0	0.00	0	0	0.00
9	Osmanabad	0	0	0.00	1	1	0.20	0	0	0.00	0	0	0.00
*	**Aurangabad Range**	**0**	**0**	**0.00**	**4**	**4**	**0.30**	**0**	**0**	**0.00**	**0**	**0**	**0.00**
10	Nanded	0	0	0.00	0	0	0.00	0	0	0.00	0	0	0.00
11	Latur	0	0	0.00	0	0	0.00	0	0	0.00	0	0	0.00
12	Parbhani	0	0	0.00	0	0	0.00	0	0	0.00	0	0	0.00
13	Hingoli	0	0	0.00	0	0	0.00	0	0	0.00	0	0	0.00
*	**Nanded Range**	**0**	**0**	**0.00**	**0**	**0**	**0.00**	**0**	**0**	**0.00**	**0**	**0**	**0.00**
14	Kolhapur	0	0	0.00	1	1	0.10	0	0	0.00	0	0	0.00
15	Pune Rural	0	0	0.00	6	6	0.30	0	0	0.00	0	0	0.00
16	Sangli	0	0	0.00	0	0	0.00	0	0	0.00	1	3	0.10
17	Satara	0	0	0.00	3	3	0.10	0	0	0.00	0	0	0.00
18	Solapur Rural	0	0	0.00	0	0	0.00	0	0	0.00	0	0	0.00
*	**Kolhapur Range**	**0**	**0**	**0.00**	**10**	**10**	**0.50**	**0**	**0**	**0.00**	**1**	**3**	**0.10**
19	Bhandara	0	0	0.00	0	0	0.00	0	0	0.00	0	0	0.00
20	Chandrapur	0	0	0.00	1	1	0.10	0	0	0.00	0	0	0.00
21	Nagpur Rural	0	0	0.00	0	0	0.10	0	0	0.00	0	0	0.00
22	Wardha	0	0	0.00	0	0	0.00	0	0	0.00	0	0	0.00
*	**Nagpur Range**	**0**	**0**	**0.00**	**1**	**1**	**0.20**	**0**	**0**	0.00	**0**	**0**	**0.00**
23	Gadchiroli	0	0	0.00	0	0	0.00	0	0	0.00	0	0	0.00
24	Gondia	0	0	0.00	0	0	0.00	0	0	0.00	0	0	0.00
*	**Gadchiroli Range**	**0**	**0**	**0.00**	**0**	**0**	**0.00**	**0**	**0**	**0.00**	**0**	**0**	**0.00**
25	Ahmednagar	0	0	0.00	1	1	0.10	0	0	0.00	0	0	0.00
26	Dhule	0	0	0.00	0	0	0.00	0	0	0.00	0	0	0.00
27	Jalgaon	0	0	0.00	0	0	0.00	0	0	0.00	0	0	0.00
28	Nasik Rural	0	0	0.00	0	0	0.00	0	0	0.00	0	0	0.00
29	Nandurbar	0	0	0.00	0	0	0.00	0	0	0.00	0	0	0.00
*	**Nasik Range**	**0**	**0**	**0.00**	**1**	**1**	**0.10**	**0**	**0**	**0.00**	**0**	**0**	**0.00**
30	Raigad	0	0	0.00	0	0	0.00	0	0	0.00	0	0	0.00
31	Ratnagiri	0	0	0.00	0	0	0.00	0	0	0.00	0	0	0.00
32	Sindhudurg	0	0	0.00	0	0	0.00	0	0	0.00	0	0	0.00
33	Thane Rural	1	1	0.00	0	0	0.00	0	0	0.00	0	0	0.00
34	Palghar	0	0	0.00	0	0	0.00	0	0	0.00	0	0	0.00
*	**Thane Range**	**1**	**1**	**0.00**	**0**	**0**	**0.00**	**0**	**0**	**0.00**	**0**	**0**	**0.00**
35	Mumbai Railway	0	0	0.00	0	0	0.00	0	0	0.00	0	0	0.00
36	Pune Railway	0	0	0.00	0	0	0.00	0	0	0.00	0	0	0.00
37	Nagpur Railway	0	0	0.00	0	0	0.00	0	0	0.00	0	0	0.00
*	**Railway Range**	**0**	**0**	**0.00**	**0**	**0**	**0.00**	**0**	**0**	**0.00**	**0**	**0**	**0.00**
38	Nagpur Commr.	0	0	0.00	1	1	0.00	0	0	0.00	0	0	0.00
39	Pune Commr.	0	0	0.00	1	1	0.10	0	0	0.00	1	1	0.10
40	Thane Commr.	0	0	0.00	0	0	0.00	0	0	0.00	0	0	0.00
41	Mumbai Commr.	0	0	0.00	1	1	0.00	0	0	0.00	91	111	5.40
42	Nasik Commr.	0	0	0.00	0	0	0.00	0	0	0.00	0	0	0.00
43	Aurangabad Commr.	0	0	0.00	2	2	0.00	0	0	0.00	0	0	0.00
44	Solapur Commr.	0	0	0.00	0	0	0.00	0	0	0.00	0	0	0.00
45	Navi Mumbai	0	0	0.00	1	1	0.00	0	0	0.00	0	0	0.00
46	Amravati Commr.	0	0	0.00	1	1	0.00	0	0	0.00	0	0	0.00
*	**Total Commrs.**	**0**	**0**	**0.00**	**7**	**7**	**0.10**	**0**	**0**	**0.00**	**92**	**112**	**5.50**
*	**Total of M.S**	**1**	**1**	**0.00**	**24**	**24**	**1.20**	**0**	**0**	**0.00**	**96**	**118**	**5.70**

तक्ता क्र. ३० (पुढे चालू)

सन २०१५ मधील घटक-निहाय बालकांवरील अत्याचाराचे गुन्हे आणि गुन्हयांचे शेकडा प्रमाण.

Table No. 30 (Continued)

Incidences (I) And Percentage Contribution To All Ms (P) Of Crimes Committed Against Children During 2015 (Unit-Wise)

Sr. No.	UNIT	Child Labour (Prohibition and Regulation) Act,1986											
		Offences committed against Migrant (Total)			Against SC migrants			Against ST migrants			Against Other Migrants		
		I	V	R	I	V	R	I	V	R	I	V	R
1	2	82	83	84	85	86	87	88	89	90	91	92	93
1	Akola	0	0	0.00	0	0	0.00	0		0.00	0	0	0.00
2	Amravati Rural	0	0	0.00	0	0	0.00	0	0	0.00	0	0	0.00
3	Buldhana	0	0	0.00	0	0	0.00	0	0	0.00	0	0	0.00
4	Yavatmal	1	1	0.00	0	0	0.00	0	0	0.00	1	1	0.00
5	Washim	0	0	0.00	0	0	0.00	0	0	0.00	0	0	0.00
*	**Amravati Range**	**1**	**1**	**0.00**	**0**	**0**	**0.00**	**0**	**0**	**0.00**	**1**	**1**	**0.00**
6	Aurangabad Rural	0	0	0.00	0	0	0.00	0	0	0.00	0	0	0.00
7	Jalna	0	0	0.00	0	0	0.00	0	0	0.00	0	0	0.00
8	Beed	0	0	0.00	0	0	0.00	0	0	0.00	0	0	0.00
9	Osmanabad	0	0	0.00	0	0	0.00	0	0	0.00	0	0	0.00
*	**Aurangabad Range**	**0**	**0**	**0.00**	**0**	**0**	**0.00**	**0**	**0**	**0.00**	**0**	**0**	**0.00**
10	Nanded	0	0	0.00	0	0	0.00	0	0	0.00	0	0	0.00
11	Latur	0	0	0.00	0	0	0.00	0	0	0.00	0	0	0.00
12	Parbhani	0	0	0.00	0	0	0.00	0	0	0.00	0	0	0.00
13	Hingoli	0	0	0.00	0	0	0.00	0	0	0.00	0	0	0.00
*	**Nanded Range**	**0**	**0**	**0.00**	**0**	**0**	**0.00**	**0**	**0**	**0.00**	**0**	**0**	**0.00**
14	Kolhapur	0	0	0.00	0	0	0.00	0	0	0.00	0	0	0.00
15	Pune Rural	0	0	0.00	0	0	0.00	0	0	0.00	0	0	0.00
16	Sangli	0	0	0.00	0	0	0.00	0	0	0.00	0	0	0.00
17	Satara	0	0	0.00	0	0	0.00	0	0	0.00	0	0	0.00
18	Solapur Rural	0	0	0.00	0	0	0.00	0	0	0.00	0	0	0.00
*	**Kolhapur Range**	**0**	**0**	**0.00**	**0**	**0**	**0.00**	**0**	**0**	**0.00**	**0**	**0**	**0.00**
19	Bhandara	0	0	0.00	0	0	0.00	0	0	0.00	0	0	0.00
20	Chandrapur	0	0	0.00	0	0	0.00	0	0	0.00	0	0	0.00
21	Nagpur Rural	0	0	0.00	0	0	0.00	0	0	0.00	0	0	0.00
22	Wardha	0	0	0.00	0	0	0.00	0	0	0.00	0	0	0.00
*	**Nagpur Range**	**0**	**0**	**0.00**	**0**	**0**	**0.00**	**0**	**0**	**0.00**	**0**	**0**	**0.00**
23	Gadchiroli	0	0	0.00	0	0	0.00	0	0	0.00	0	0	0.00
24	Gondia	0	0	0.00	0	0	0.00	0	0	0.00	0	0	0.00
*	**Gadchiroli Range**	**0**	**0**	**0.00**	**0**	**0**	**0.00**	**0**	**0**	**0.00**	**0**	**0**	**0.00**
25	Ahmednagar	0	0	0.00	0	0	0.00	0	0	0.00	0	0	0.00
26	Dhule	0	0	0.00	0	0	0.00	0	0	0.00	0	0	0.00
27	Jalgaon	0	0	0.00	0	0	0.00	0	0	0.00	0	0	0.00
28	Nasik Rural	0	0	0.00	0	0	0.00	0	0	0.00	0	0	0.00
29	Nandurbar	0	0	0.00	0	0	0.00	0	0	0.00	0	0	0.00
*	**Nasik Range**	**0**	**0**	**0.00**	**0**	**0**	**0.00**	**0**	**0**	**0.00**	**0**	**0**	**0.00**
30	Raigad	0	0	0.00	0	0	0.00	0	0	0.00	0	0	0.00
31	Ratnagiri	0	0	0.00	0	0	0.00	0	0	0.00	0	0	0.00
32	Sindhudurg	0	0	0.00	0	0	0.00	0	0	0.00	0	0	0.00
33	Thane Rural	0	0	0.00	0	0	0.00	0	0	0.00	0	0	0.00
34	Palghar	0	0	0.00	0	0	0.00	0	0	0.00	0	0	0.00
*	**Thane Range**	**0**	**0**	**0.00**	**0**	**0**	**0.00**	**0**	**0**	**0.00**	**0**	**0**	**0.00**
35	Mumbai Railway	0	0	0.00	0	0	0.00	0	0	0.00	0	0	0.00
36	Pune Railway	0	0	0.00	0	0	0.00	0	0	0.00	0	0	0.00
37	Nagpur Railway	0	0	0.00	0	0	0.00	0	0	0.00	0	0	0.00
*	**Railway Range**	**0**	**0**	**0.00**	**0**	**0**	**0.00**	**0**	**0**	**0.00**	**0**	**0**	**0.00**
38	Nagpur Commr.	0	0	0.00	0	0	0.00	0	0	0.00	0	0	0.00
39	Pune Commr.	0	0	0.00	0	0	0.00	0	0	0.00	0	0	0.00
40	Thane Commr.	0	0	0.00	0	0	0.00	0	0	0.00	0	0	0.00
41	Mumbai Commr.	19	19	1.10	0	0	0.00	0	0	0.00	19	19	1.10
42	Nasik Commr.	0	0	0.00	0	0	0.00	0	0	0.00	0	0	0.00
43	Aurangabad Commr.	0	0	0.00	0	0	0.00	0	0	0.00	0	0	0.00
44	Solapur Commr.	0	0	0.00	0	0	0.00	0	0	0.00	0	0	0.00
45	Navi Mumbai	0	0	0.00	0	0	0.00	0	0	0.00	0	0	0.00
46	Amravati Commr.	0	0	0.00	0	0	0.00	0	0	0.00	0	0	0.00
*	**Total Commrs.**	**19**	**19**	**1.10**	**0**	**0**	**0.00**	**0**	**0**	**0.00**	**19**	**19**	**1.10**
*	**Total of M.S**	**20**	**20**	**1.10**	**0**	**0**	**0.00**	**0**	**0**	**0.00**	**20**	**20**	**1.10**

तक्ता क्र. ३० (पुढे चालू)

सन २०१५ मधील घटक-निहाय बालकांवरील अत्याचाराचे गुन्हे आणि गुन्हयांचे शेकडा प्रमाण.

Table No. 30 (Continued)

Incidences (I) And Percentage Contribution To All MS (P) Of Crimes Committed Against Children During 2015 (Unit-Wise)

Sr. No.	UNIT	Child Labour (Prohibition and Regulation) Act,1986											
		Offences committed against Locals			Againsts SC			Againsts ST			Againsts Others		
		I	V	R	I	V	R	I	V	R	I	V	R
1	2	94	95	96	97	98	99	100	101	102	103	104	105
1	Akola	0	0	0.00	0	0	0.00	0	0	0.00	0	0	0.00
2	Amravati Rural	0	0	0.00	0	0	0.00	0		0.00	0	0	0.00
3	Buldhana	2	2	0.10	0	0	0.00	0	0	0.00	2	2	0.10
4	Yavatmal	0	0	0.00	0	0	0.00	0	0	0.00	0	0	0.00
5	Washim	0	0	0.00	0	0	0.00	0	0	0.00	0	0	0.00
*	**Amravati Range**	**2**	**2**	**0.10**	**0**	**0**	**0.00**	**0**	**0**	**0.00**	**2**	**2**	**0.10**
6	Aurangabad Rural	0	0	0.00	0	0	0.00	0	0	0.00	0	0	0.00
7	Jalna	0	0	0.00	0	0	0.00	0	0	0.00	0	0	0.00
8	Beed	0	0	0.00	0	0	0.00	0	0	0.00	0	0	0.00
9	Osmanabad	0	0	0.00	0	0	0.00	0	0	0.00	0	0	0.00
*	**Aurangabad Range**	**0**	**0**	**0.00**	**0**	**0**	**0.00**	**0**	**0**	**0.00**	**0**	**0**	**0.00**
10	Nanded	0	0	0.00	0	0	0.00	0	0	0.00	0	0	0.00
11	Latur	0	0	0.00	0	0	0.00	0	0	0.00	0	0	0.00
12	Parbhani	0	0	0.00	0	0	0.00	0	0	0.00	0	0	0.00
13	Hingoli	0	0	0.00	0	0	0.00	0	0	0.00	0	0	0.00
*	**Nanded Range**	**0**	**0**	**0.00**	**0**	**0**	**0.00**	**0**	**0**	**0.00**	**0**	**0**	**0.00**
14	Kolhapur	0	0	0.00	0	0	0.00	0	0	0.00	0	0	0.00
15	Pune Rural	0	0	0.00	0	0	0.00	0	0	0.00	0	0	0.00
16	Sangli	1	3	0.10	0	0	0.00	0	0	0.00	1	3	0.10
17	Satara	0	0	0.00	0	0	0.00	0	0	0.00	0	0	0.00
18	Solapur Rural	0	0	0.00	0	0	0.00	0	0	0.00	0	0	0.00
*	**Kolhapur Range**	**1**	**3**	**0.10**	**0**	**0**	**0.00**	**0**	**0**	**0.00**	**1**	**3**	**0.10**
19	Bhandara	0	0	0.00	0	0	0.00	0	0	0.00	0	0	0.00
20	Chandrapur	0	0	0.00	0	0	0.00	0	0	0.00	0	0	0.00
21	Nagpur Rural	0	0	0.00	0	0	0.00	0	0	0.00	0	0	0.00
22	Wardha	0	0	0.00	0	0	0.00	0	0	0.00	0	0	0.00
*	**Nagpur Range**	**0**	**0**	**0.00**	**0**	**0**	**0.00**	**0**	**0**	**0.00**	**0**	**0**	**0.00**
23	Gadchiroli	0	0	0.00	0	0	0.00	0	0	0.00	0	0	0.00
24	Gondia	0	0	0.00	0	0	0.00	0	0	0.00	0	0	0.00
*	**Gadchiroli Range**	**0**	**0**	**0.00**	**0**	**0**	**0.00**	**0**	**0**	**0.00**	**0**	**0**	**0.00**
25	Ahmednagar	0	0	0.00	0	0	0.00	0	0	0.00	0	0	0.00
26	Dhule	0	0	0.00	0	0	0.00	0	0	0.00	0	0	0.00
27	Jalgaon	0	0	0.00	0	0	0.00	0	0	0.00	0	0	0.00
28	Nasik Rural	0	0	0.00	0	0	0.00	0	0	0.00	0	0	0.00
29	Nandurbar	0	0	0.00	0	0	0.00	0	0	0.00	0	0	0.00
*	**Nasik Range**	**0**	**0**	**0.00**	**0**	**0**	**0.00**	**0**	**0**	**0.00**	**0**	**0**	**0.00**
30	Raigad	0	0	0.00	0	0	0.00	0	0	0.00	0	0	0.00
31	Ratnagiri	0	0	0.00	0	0	0.00	0	0	0.00	0	0	0.00
32	Sindhudurg	0	0	0.00	0	0	0.00	0	0	0.00	0	0	0.00
33	Thane Rural	0	0	0.00	0	0	0.00	0	0	0.00	0	0	0.00
34	Palghar	0	0	0.00	0	0	0.00	0	0	0.00	0	0	0.00
*	**Thane Range**	**0**	**0**	**0.00**	**0**	**0**	**0.00**	**0**	**0**	**0.00**	**0**	**0**	**0.00**
35	Mumbai Railway	0	0	0.00	0	0	0.00	0	0	0.00	0	0	0.00
36	Pune Railway	0	0	0.00	0	0	0.00	0	0	0.00	0	0	0.00
37	Nagpur Railway	0	0	0.00	0	0	0.00	0	0	0.00	0	0	0.00
*	**Railway Range**	**0**	**0**	**0.00**	**0**	**0**	**0.00**	**0**	**0**	**0.00**	**0**	**0**	**0.00**
38	Nagpur Commr.	0	0	0.00	0	0	0.00	0	0	0.00	0	0	0.00
39	Pune Commr.	1	1	0.10	0	0	0.00	0	0	0.00	1	1	0.10
40	Thane Commr.	0	0	0.00	0	0	0.00	0	0	0.00	0	0	0.00
41	Mumbai Commr.	72	92	4.20	0	0	0.00	0	0	0.00	72	92	4.20
42	Nasik Commr.	0	0	0.00	0	0	0.00	0	0	0.00	0	0	0.00
43	Aurangabad Commr.	0	0	0.00	0	0	0.00	0	0	0.00	0	0	0.00
44	Solapur Commr.	0	0	0.00	0	0	0.00	0	0	0.00	0	0	0.00
45	Navi Mumbai	0	0	0.00	0	0	0.00	0	0	0.00	0	0	0.00
46	Amravati Commr.	0	0	0.00	0	0	0.00	0	0	0.00	0	0	0.00
*	**Total Commrs.**	**73**	**93**	**4.30**	**0**	**0**	**0.00**	**0**	**0**	**0.00**	**73**	**93**	**4.30**
*	**Total of M.S**	**76**	**98**	**4.50**	**0**	**0**	**0.00**	**0**	**0**	**0.00**	**76**	**98**	**4.50**

तक्ता क्र. ३० (पुढे चालू)

सन २०१५ मधील घटक-निहाय बालकांवरील अत्याचाराचे गुन्हे आणि गुन्हयांचे शेकडा प्रमाण.

Table No. 30 (Continued)

Incidences (I) And Percentage Contribution To All MS (P) Of Crimes Committed Against Children During 2015 (Unit-Wise)

Sr. No.	UNIT	Immoral Traffic (Prevention) Act, 1956											
		IT (P) Act- Total			Under Section 5			Under Section 6			Under Section 7		
		I	V	R	I	V	R	I	V	R	I	V	R
1	2	106	107	108	109	110	111	112	113	114	115	116	117
1	Akola	0	0	0.00	0	0	0.00	0	0	0.00	0	0	0.00
2	Amravati Rural	0	0	0.00	0	0	0.00	0		0.00	0	0	0.00
3	Buldhana	0	0	0.10	0	0	0.00	0	0	0.00	0	0	0.10
4	Yavatmal	2	2	0.00	0	0	0.00	0	0	0.00	0	0	0.00
5	Washim	0	0	0.00	0	0	0.00	0	0	0.00	0	0	0.00
*	**Amravati Range**	**2**	**2**	**0.10**	**0**	**0**	**0.00**	**0**	**0**	**0.00**	**0**	**0**	**0.10**
6	Aurangabad Rural	0	0	0.00	0	0	0.00	0	0	0.00	0	0	0.00
7	Jalna	0	0	0.00	0	0	0.00	0	0	0.00	0	0	0.00
8	Beed	0	0	0.00	0	0	0.00	0	0	0.00	0	0	0.00
9	Osmanabad	0	0	0.00	0	0	0.00	0	0	0.00	0	0	0.00
*	**Aurangabad Range**	**0**	**0**	**0.00**	**0**	**0**	**0.00**	**0**	**0**	**0.00**	**0**	**0**	**0.00**
10	Nanded	0	0	0.00	0	0	0.00	0	0	0.00	0	0	0.00
11	Latur	0	0	0.00	0	0	0.00	0	0	0.00	0	0	0.00
12	Parbhani	0	0	0.00	0	0	0.00	0	0	0.00	0	0	0.00
13	Hingoli	0	0	0.00	0	0	0.00	0	0	0.00	0	0	0.00
*	**Nanded Range**	**0**	**0**	**0.00**	**0**	**0**	**0.00**	**0**	**0**	**0.00**	**0**	**0**	**0.00**
14	Kolhapur	0	0	0.00	0	0	0.00	0	0	0.00	0	0	0.00
15	Pune Rural	0	0	0.00	0	0	0.00	0	0	0.00	0	0	0.00
16	Sangli	1	1	0.10	0	0	0.10	0	0	0.00	0	0	0.10
17	Satara	0	0	0.00	0	0	0.00	0	0	0.00	0	0	0.00
18	Solapur Rural	0	0	0.00	0	0	0.00	0	0	0.00	0	0	0.00
*	**Kolhapur Range**	**1**	**1**	**0.10**	**0**	**0**	**0.10**	**0**	**0**	**0.00**	**0**	**0**	**0.10**
19	Bhandara	0	0	0.00	0	0	0.00	0	0	0.00	0	0	0.00
20	Chandrapur	0	0	0.00	0	0	0.00	0	0	0.00	0	0	0.00
21	Nagpur Rural	0	0	0.00	0	0	0.00	0	0	0.00	0	0	0.00
22	Wardha	0	0	0.00	0	0	0.00	0	0	0.00	0	0	0.00
*	**Nagpur Range**	**0**	**0**	**0.00**	**0**	**0**	**0.00**	**0**	**0**	**0.00**	**0**	**0**	**0.00**
23	Gadchiroli	0	0	0.00	0	0	0.00	0	0	0.00	0	0	0.00
24	Gondia	0	0	0.00	0	0	0.00	0	0	0.00	0	0	0.00
*	**Gadchiroli Range**	**0**	**0**	**0.00**	**0**	**0**	**0.00**	**0**	**0**	**0.00**	**0**	**0**	**0.00**
25	Ahmednagar	0	0	0.00	0	0	0.00	0	0	0.00	0	0	0.00
26	Dhule	0	0	0.00	0	0	0.00	0	0	0.00	0	0	0.00
27	Jalgaon	0	0	0.00	0	0	0.00	0	0	0.00	0	0	0.00
28	Nasik Rural	0	0	0.00	0	0	0.00	0	0	0.00	0	0	0.00
29	Nandurbar	0	0	0.00	0	0	0.00	0	0	0.00	0	0	0.00
*	**Nasik Range**	**0**	**0**	**0.00**	**0**	**0**	**0.00**	**0**	**0**	**0.00**	**0**	**0**	**0.00**
30	Raigad	0	0	0.00	0	0	0.00	0	0	0.00	0	0	0.00
31	Ratnagiri	0	0	0.00	0	0	0.00	0	0	0.00	0	0	0.00
32	Sindhudurg	0	0	0.00	0	0	0.00	0	0	0.00	0	0	0.00
33	Thane Rural	0	0	0.00	0	0	0.00	0	0	0.00	0	0	0.00
34	Palghar	1	2	0.00	0	0	0.00	0	0	0.00	0	0	0.00
*	**Thane Range**	**1**	**2**	**0.00**	**0**	**0**	**0.00**	**0**	**0**	**0.00**	**0**	**0**	**0.00**
35	Mumbai Railway	0	0	0.00	0	0	0.00	0	0	0.00	0	0	0.00
36	Pune Railway	0	0	0.00	0	0	0.00	0	0	0.00	0	0	0.00
37	Nagpur Railway	0	0	0.00	0	0	0.00	0	0	0.00	0	0	0.00
*	**Railway Range**	**0**	**0**	**0.00**	**0**	**0**	**0.00**	**0**	**0**	**0.00**	**0**	**0**	**0.00**
38	Nagpur Commr.	3	3	0.00	1	1	0.00	0	0	0.00	2	2	0.00
39	Pune Commr.	0	0	0.10	0	0	0.00	0	0	0.00	0	0	0.10
40	Thane Commr.	4	4	0.00	4	4	0.00	0	0	0.00	0	0	0.00
41	Mumbai Commr.	6	12	4.20	5	11	0.00	0	0	0.00	0	0	4.20
42	Nasik Commr.	0	0	0.00	0	0	0.00	0	0	0.00	1	1	0.00
43	Aurangabad Commr.	0	0	0.00	0	0	0.00	0	0	0.00	0	0	0.00
44	Solapur Commr.	0	0	0.00	0	0	0.00	0	0	0.00	0	0	0.00
45	Navi Mumbai	1	4	0.00	0	0	0.00	0	0	0.00	0	0	0.00
46	Amravati Commr.	0	0	0.00	0	0	0.00	0	0	0.00	0	0	0.00
*	**Total Commrs.**	**14**	**23**	**0.00**	**10**	**16**	**0.00**	**0**	**0**	**0.00**	**3**	**3**	**4.30**
*	**Total of M.S**	**18**	**28**	**0.00**	**10**	**16**	**0.10**	**0**	**0**	**0.00**	**3**	**3**	**4.50**

तक्ता क्र. ३० (पुढे चालू)

सन २०१५ मधील घटक-निहाय बालकांवरील अत्याचाराचे गुन्हे आणि गुन्हयांचे शेकडा प्रमाण.

Table No. 30 (Continued)

Incidences (I) And Percentage Contribution To All MS (P) Of Crimes Committed Against Children During 2015 (Unit-Wise)

Sr. No.	UNIT	Immoral Traffic (Prevention) Act, 1956						Juveniles Justice (Care and Protection of Children) Act			Protection of Children from Sexual Offences Act		
		Under Section 8			Others						Protection of Children from Sexual Offences Act - Total		
		I	V	R	I	V	R	I	V	R	I	V	R
1	(2)	118	119	120	121	122	123	124	125	126	127	128	129
1	Akola	0	0	0.00	0	0	0.00	2		0.10	0	0	0.00
2	Amravati Rural	0	0	0.00	0	0	0.00	0	0	0.00	0	0	0.00
3	Buldhana	0	0	0.00	0	0	0.00	0	0	0.00	0	0	0.00
4	Yavatmal	0	0	0.00	2	2	0.16	0	0	0.00	0	0	0.00
5	Washim	0	0	0.00	0	0	0.00	0	0	0.00	0	0	0.00
*	**Amravati Range**	**0**	**0**	**0.00**	**2**	**2**	**0.16**	**2**	**4**	**0.10**	**0**	**0**	**0.00**
6	Aurangabad Rural	0	0	0.00	0	0	0.00	0	0	0.00	0	0	0.00
7	Jalna	0	0	0.00	0	0	0.00	0	0	0.00	0	0	0.00
8	Beed	0	0	0.00	0	0	0.00	0	0	0.00	1	1	0.04
9	Osmanabad	0	0	0.00	0	0	0.00	0	0	0.00	0	0	0.00
*	**Aurangabad Range**	**0**	**0**	**0.00**	**0**	**0**	**0.00**	**0**	**0**	**0.00**	**1**	**1**	**0.04**
10	Nanded	0	0	0.00	0	0	0.00	0	0	0.00	0	0	0.00
11	Latur	0	0	0.00	0	0	0.00	0	0	0.00	0	0	0.00
12	Parbhani	0	0	0.00	0	0	0.00	0	0	0.00	0	0	0.00
13	Hingoli	0	0	0.00	0	0	0.00	0	0	0.00	0	0	0.00
*	**Nanded Range**	**0**	**0**	**0.00**	**0**	**0**	**0.00**	**0**	**0**	**0.00**	**0**	**0**	**0.00**
14	Kolhapur	0	0	0.00	0	0	0.00	0	0	0.00	0	0	0.00
15	Pune Rural	0	0	0.00	0	0	0.00	0	0	0.00	1	1	0.02
16	Sangli	0	0	0.00	1	1	0.03	0	0	0.00	2	4	0.07
17	Satara	0	0	0.00	0	0	0.00	0	0	0.00	1	2	0.03
18	Solapur Rural	0	0	0.00	0	0	0.00	0	0	0.00	0	0	0.00
*	**Kolhapur Range**	**0**	**0**	**0.00**	**1**	**1**	**0.03**	**0**	**0**	**0.00**	**4**	**7**	**0.12**
19	Bhandara	0	0	0.00	0	0	0.00	0	0	0.00	1	1	0.08
20	Chandrapur	0	0	0.00	0	0	0.00	3	3	0.13	0	0	0.00
21	Nagpur Rural	0	0	0.00	0	0	0.00	0	0	0.00	0	0	0.00
22	Wardha	0	0	0.00	0	0	0.00	0	0	0.00	0	0	0.00
*	**Nagpur Range**	**0**	**0**	**0.00**	**0**	**0**	**0.00**	**3**	**3**	**0.13**	**1**	**1**	**0.08**
23	Gadchiroli	0	0	0.00	0	0	0.00	0	0	0.00	0	0	0.00
24	Gondia	0	0	0.00	0	0	0.00	0	0	0.00	0	0	0.00
*	**Gadchiroli Range**	**0**	**0**	**0.00**	**0**	**0**	**0.00**	**0**	**0**	**0.00**	**0**	**0**	**0.00**
25	Ahmednagar	0	0	0.00	0	0	0.00	0	0	0.00	0	0	0.00
26	Dhule	0	0	0.00	0	0	0.00	0	0	0.00	0	0	0.00
27	Jalgaon	0	0	0.00	0	0	0.00	0	0	0.00	1	1	0.02
28	Nasik Rural	0	0	0.00	0	0	0.00	0	0	0.00	0	0	0.00
29	Nandurbar	0	0	0.00	0	0	0.00	0	0	0.00	0	0	0.00
*	**Nasik Range**	**0**	**0**	**0.00**	**0**	**0**	**0.00**	**0**	**0**	**0.00**	**1**	**1**	**0.02**
30	Raigad	0	0	0.00	0	0	0.00	0	0	0.00	0	0	0.00
31	Ratnagiri	0	0	0.00	0	0	0.00	0	0	0.00	0	0	0.00
32	Sindhudurg	0	0	0.00	0	0	0.00	0	0	0.00	0	0	0.00
33	Thane Rural	0	0	0.00	0	0	0.00	0	0	0.00	0	0	0.00
34	Palghar	0	0	0.00	1	2	0.03	0	0	0.00	0	0	0.00
*	**Thane Range**	**0**	**0**	**0.00**	**1**	**2**	**0.03**	**0**	**0**	**0.00**	**0**	**0**	**0.00**
35	Mumbai Railway	0	0	0.00	0	0	0.00	0	0	0.00	0	0	0.00
36	Pune Railway	0	0	0.00	0	0	0.00	0	0	0.00	0	0	0.00
37	Nagpur Railway	0	0	0.00	0	0	0.00	0	0	0.00	0	0	0.00
*	**Railway Range**	**0**	**0**	**0.00**	**0**	**0**	**0.00**	**0**	**0**	**0.00**	**0**	**0**	**0.00**
38	Nagpur Commr.	0	0	0.00	0	0	0.00	3	3	0.11	0	0	0.00
39	Pune Commr.	0	0	0.00	0	0	0.00	5	5	0.09	1	1	0.02
40	Thane Commr.	0	0	0.00	0	0	0.00	0	0	0.00	1	1	0.02
41	Mumbai Commr.	0	0	0.00	0	0	0.00	231	293	1.83	1	1	0.01
42	Nasik Commr.	0	0	0.00	0	0	0.00	6	19	0.34	2	3	0.11
43	Aurangabad Commr.	0	0	0.00	0	0	0.00	0	0	0.00	2	2	0.12
44	Solapur Commr.	0	0	0.00	0	0	0.00	0	0	0.00	0	0	0.00
45	Navi Mumbai	0	0	0.00	1	4	0.05	1	1	0.05	10	10	0.47
46	Amravati Commr.	0	0	0.00	0	0	0.00	0	0	0.00	2	2	0.23
*	**Total Commrs.**	**0**	**0**	**0.00**	**1**	**4**	**0.05**	**246**	**321**	**2.42**	**19**	**20**	**0.99**
*	**Total of M.S**	**0**	**0**	**0.00**	**5**	**9**	**0.27**	**251**	**328**	**2.65**	**26**	**30**	**1.24**

तक्ता क्र. ३० (पुढे चालू)

सन २०१५ मधील घटक-निहाय बालकांवरील अत्याचाराचे गुन्हे आणि गुन्हयांचे शेकडा प्रमाण.

Table No. 30 (Continued)

Incidences (I) And Percentage Contribution To All MS (P) Of Crimes Committed Against Children During 2015 (Unit-Wise)

Sr. No.	UNIT	Protection of Children from Sexual Offences Act 2012.											
		Under Section 4			Under Section 6			Under Section 8			Under Section 10		
		I	V	R	I	V	R	I	V	R	I	V	R
1	2	130	131	132	133	134	135	136	137	138	139	140	141
1	Akola	0	0	0.00	0	0	0.00	0		0.00	0	0	0.00
2	Amravati Rural	0	0	0.00	0	0	0.00	0	0	0.00	0	0	0.00
3	Buldhana	0	0	0.00	0	0	0.00	0	0	0.00	0	0	0.00
4	Yavatmal	0	0	0.00	0	0	0.00	1	1	0.08	0	0	0.00
5	Washim	0	0	0.00	0	0	0.00	0	0	0.00	0	0	0.00
*	**Amravati Range**	**0**	**0**	**0.00**	**0**	**0**	**0.00**	**1**	**1**	**0.08**	**0**	**0**	**0.00**
6	Aurangabad Rural	0	0	0.00	0	0	0.00	0	0	0.00	0	0	0.00
7	Jalna	0	0	0.00	0	0	0.00	0	0	0.00	0	0	0.00
8	Beed	0	0	0.00	0	0	0.00	1	1	0.04	0	0	0.00
9	Osmanabad	0	0	0.00	0	0	0.00	0	0	0.00	0	0	0.00
*	**Aurangabad Range**	**0**	**0**	**0.00**	**0**	**0**	**0.00**	**1**	**1**	**0.04**	**0**	**0**	**0.00**
10	Nanded	0	0	0.00	0	0	0.00	0	0	0.00	0	0	0.00
11	Latur	0	0	0.00	0	0	0.00	0	0	0.00	0	0	0.00
12	Parbhani	0	0	0.00	0	0	0.00	0	0	0.00	0	0	0.00
13	Hingoli	0	0	0.00	0	0	0.00	0	0	0.00	0	0	0.00
*	**Nanded Range**	**0**	**0**	**0.00**	**0**	**0**	**0.00**	**0**	**0**	**0.00**	**0**	**0**	**0.00**
14	Kolhapur	0	0	0.00	0	0	0.00	0	0	0.00	0	0	0.00
15	Pune Rural	0	0	0.00	0	0	0.00	1	1	0.02	0	0	0.00
16	Sangli	0	0	0.00	0	0	0.00	0	0	0.00	0	0	0.00
17	Satara	0	0	0.00	0	0	0.00	0	0	0.00	0	0	0.00
18	Solapur Rural	0	0	0.00	0	0	0.00	0	0	0.00	0	0	0.00
*	**Kolhapur Range**	**0**	**0**	**0.00**	**0**	**0**	**0.00**	**1**	**1**	**0.02**	**0**	**0**	**0.00**
19	Bhandara	0	0	0.00	0	0	0.00	0	0	0.00	0	0	0.00
20	Chandrapur	0	0	0.00	0	0	0.00	0	0	0.00	0	0	0.00
21	Nagpur Rural	0	0	0.00	0	0	0.00	0	0	0.00	0	0	0.00
22	Wardha	0	0	0.00	0	0	0.00	0	0	0.00	0	0	0.00
*	**Nagpur Range**	**0**	**0**	**0.00**	**0**	**0**	**0.00**	**0**	**0**	**0.00**	**0**	**0**	**0.00**
23	Gadchiroli	0	0	0.00	0	0	0.00	0	0	0.00	0	0	0.00
24	Gondia	0	0	0.00	0	0	0.00	0	0	0.00	0	0	0.00
*	**Gadchiroli Range**	**0**	**0**	**0.00**	**0**	**0**	**0.00**	**0**	**0**	**0.00**	**0**	**0**	**0.00**
25	Ahmednagar	0	0	0.00	0	0	0.00	0	0	0.00	0	0	0.00
26	Dhule	0	0	0.00	0	0	0.00	0	0	0.00	0	0	0.00
27	Jalgaon	0	0	0.00	0	0	0.00	1	1	0.02	0	0	0.00
28	Nasik Rural	0	0	0.00	0	0	0.00	0	0	0.00	0	0	0.00
29	Nandurbar	0	0	0.00	0	0	0.00	0	0	0.00	0	0	0.00
*	**Nasik Range**	**0**	**0**	**0.00**	**0**	**0**	**0.00**	**1**	**1**	**0.02**	**0**	**0**	**0.00**
30	Raigad	0	0	0.00	0	0	0.00	0	0	0.00	0	0	0.00
31	Ratnagiri	0	0	0.00	0	0	0.00	0	0	0.00	0	0	0.00
32	Sindhudurg	0	0	0.00	0	0	0.00	0	0	0.00	0	0	0.00
33	Thane Rural	0	0	0.00	0	0	0.00	0	0	0.00	0	0	0.00
34	Palghar	0	0	0.00	0	0	0.00	0	0	0.00	0	0	0.00
*	**Thane Range**	**0**	**0**	**0.00**	**0**	**0**	**0.00**	**0**	**0**	**0.00**	**0**	**0**	**0.00**
35	Mumbai Railway	0	0	0.00	0	0	0.00	0	0	0.00	0	0	0.00
36	Pune Railway	0	0	0.00	0	0	0.00	0	0	0.00	0	0	0.00
37	Nagpur Railway	0	0	0.00	0	0	0.00	0	0	0.00	0	0	0.00
*	**Railway Range**	**0**	**0**	**0.00**	**0**	**0**	**0.00**	**0**	**0**	**0.00**	**0**	**0**	**0.00**
38	Nagpur Commr.	0	0	0.00	0	0	0.00	0	0	0.00	0	0	0.00
39	Pune Commr.	0	0	0.00	0	0	0.00	1	1	0.02	0	0	0.00
40	Thane Commr.	1	1	0.02	0	0	0.00	0	0	0.00	0	0	0.00
41	Mumbai Commr.	0	0	0.00	0	0	0.00	0	0	0.00	0	0	0.00
42	Nasik Commr.	1	1	0.06	0	0	0.00	1	2	0.06	0	0	0.00
43	Aurangabad Commr.	0	0	0.00	0	0	0.00	1	1	0.06	0	0	0.00
44	Solapur Commr.	0	0	0.00	0	0	0.00	0	0	0.00	0	0	0.00
45	Navi Mumbai	1	1	0.05	0	0	0.00	8	8	0.37	1	1	0.05
46	Amravati Commr.	0	0	0.00	0	0	0.00	0	0	0.00	0	0	0.00
*	**Total Commrs.**	**3**	**3**	**0.12**	**0**	**0**	**0.00**	**11**	**12**	**0.51**	**1**	**1**	**0.05**
*	**Total of M.S**	**3**	**3**	**0.12**	**0**	**0**	**0.00**	**15**	**16**	**0.67**	**1**	**1**	**0.05**

तक्ता क्र. ३० (पूर्ण)

सन २०१५ मधील घटक-निहाय बालकांवरील अत्याचाराचे गुन्हे आणि गुन्हयांचे शेकडा प्रमाण.

Table No. 30 (Concluded)

Incidences (I) And Percentage Contribution To All Ms (P) Of Crimes Committed Against Children During 2015 (Unit-Wise)

Sr. No	UNIT	Protection of Children from Sexual Offences Act 2012.						Attempt to Commit Murder			Unnatural Offences			Human Trafficking			Other crimes committed against children			Total crimes against children		
		Under Section 14& 15			Others																	
		I	V	R	I	V	R	I	V	R	I	V	R	I	V	R	I	V	R	I	V	R
1	2	142	143	144	145	146	147	148	149	150	151	152	153	154	155	156	157	158	159	160	161	162
1	Akola	0	0	0.00	0	0	0.00	3		0.16	0	0	0.00	0	0	0.00	12	12	0.63	188	196	9.83
2	Amravati Rural	0	0	0.00	0	0	0.00	0	0	0.00	2	2	0.09	0	0	0.00	5	5	0.23	283	283	13.01
3	Buldhana	0	0	0.00	0	0	0.00	0	0	0.00	2	2	0.07	0	0	0.00	21	30	0.77	160	174	5.86
4	Yavatmal	0	0	0.00	0	0	0.00	2	2	0.16	3	3	0.23	0	0	0.00	15	15	1.17	265	265	20.68
5	Washim	0	0	0.00	0	0	0.00	1	2	0.01	1	1	0.01	0	0	0.00	0	0	0.00	85	86	0.77
*	**Amravati Range**	**0**	**0**	**0.00**	**0**	**0**	**0.00**	**6**	**4**	**0.32**	**8**	**8**	**0.41**	**0**	**0**	**0.00**	**53**	**62**	**2.80**	**981**	**1004**	**50.13**
6	Aurangabad Rural	0	0	0.00	0	0	0.00	0	0	0.00	1	1	0.04	0	0	0.00	2	2	0.08	141	141	5.95
7	Jalna	0	0	0.00	0	0	0.00	0	0	0.00	0	0	0.00	0	0	0.00	0	0	0.00	52	53	2.47
8	Beed	0	0	0.00	0	0	0.00	1	1	0.04	2	2	0.07	0	0	0.00	8	8	0.29	200	211	7.21
9	Osmanabad	0	0	0.00	0	0	0.00	1	1	0.06	1	1	0.06	0	0	0.00	1	1	0.06	118	120	6.68
*	**Aurangabad Range**	**0**	**0**	**0.00**	**0**	**0**	**0.00**	**2**	**2**	**0.09**	**4**	**4**	**0.17**	**0**	**0**	**0.00**	**11**	**11**	**0.43**	**511**	**525**	**22.30**
10	Nanded	0	0	0.00	0	0	0.00	4	4	0.11	0	0	0.00	1	1	0.03	12	12	0.33	217	228	6.03
11	Latur	0	0	0.00	0	0	0.00	0	0	0.00	0	0	0.00	0	0	0.00	1	1	0.04	161	161	6.12
12	Parbhani	0	0	0.00	0	0	0.00	0	0	0.00	0	0	0.00	0	0	0.00	12	12	0.61	148	150	7.50
13	Hingoli	0	0	0.00	0	0	0.00	0	0	0.00	1	1	0.08	0	0	0.00	3	3	0.24	64	68	5.06
*	**Nanded Range**	**0**	**0**	**0.00**	**0**	**0**	**0.00**	**4**	**4**	**0.11**	**1**	**1**	**0.08**	**1**	**1**	**0.03**	**28**	**28**	**1.22**	**590**	**607**	**24.72**
14	Kolhapur	0	0	0.00	0	0	0.00	0	0	0.00	0	0	0.00	0	0	0.00	3	5	0.07	193	195	4.68
15	Pune Rural	0	0	0.00	0	0	0.00	0	0	0.00	4	4	0.09	0	0	0.00	18	18	0.40	562	581	12.63
16	Sangli	0	0	0.00	2	4	0.07	2	2	0.07	2	2	0.07	0	0	0.00	1	1	0.03	212	217	7.07
17	Satara	0	0	0.00	1	2	0.03	1	1	0.03	0	0	0.00	2	3	0.06	24	27	0.75	371	387	11.65
18	Solapur Rural	0	0	0.00	0	0	0.00	0	0	0.00	3	3	0.02	0	0	0.00	7	7	0.04	241	246	1.32
*	**Kolhapur Range**	**0**	**0**	**0.00**	**3**	**6**	**0.10**	**3**	**3**	**0.10**	**9**	**9**	**0.17**	**2**	**3**	**0.06**	**53**	**58**	**1.30**	**1579**	**1626**	**37.36**
19	Bhandara	0	0	0.00	0	0	0.00	0	0	0.00	2	2	0.16	0	0	0.00	48	60	3.78	154	168	12.12
20	Chandrapur	0	0	0.00	0	0	0.00	1	1	0.04	0	0	0.00	0	0	0.00	25	25	1.07	306	312	13.11
21	Nagpur Rural	0	0	0.00	0	0	0.00	6	6	0.27	1	1	0.04	0	0	0.00	0	0	0.00	164	164	7.29
22	Wardha	0	0	0.00	0	0	0.00	0	0	0.00	0	0	0.00	0	0	0.00	0	0	0.00	169	171	12.28
*	**Nagpur Range**	**0**	**0**	**0.00**	**0**	**0**	**0.00**	**7**	**7**	**0.31**	**3**	**3**	**0.20**	**0**	**0**	**0.00**	**73**	**85**	**4.85**	**793**	**815**	**44.79**
23	Gadchiroli	0	0	0.00	0	0	0.00	0	0	0.00	0	0	0.00	0	0	0.00	2	2	0.18	58	61	5.08
24	Gondia	0	0	0.00	0	0	0.00	0	0	0.00	0	0	0.00	0	0	0.00	11	11	0.78	136	136	9.67
*	**Gadchiroli Range**	**0**	**0**	**0.00**	**0**	**0**	**0.00**	**0**	**0**	**0.00**	**0**	**0**	**0.00**	**0**	**0**	**0.00**	**13**	**13**	**0.96**	**194**	**197**	**14.75**
25	Ahmednagar	0	0	0.00	0	0	0.00	0	0	0.00	0	0	0.00	0	0	0.00	0	0	0.00	257	257	5.35
26	Dhule	0	0	0.00	0	0	0.00	0	0	0.00	0	0	0.00	0	0	0.00	0	0	0.00	73	74	3.31
27	Jalgaon	0	0	0.00	0	0	0.00	0	0	0.00	3	3	0.07	0	0	0.00	16	16	0.35	231	232	5.11
28	Nasik Rural	0	0	0.00	0	0	0.00	2	2	0.04	2	2	0.04	0	0	0.00	1	1	0.02	246	251	5.17
29	Nandurbar	0	0	0.00	0	0	0.00	0	0	0.00	0	0	0.00	0	0	0.00	9	9	0.51	55	61	3.09
*	**Nasik Range**	**0**	**0**	**0.00**	**0**	**0**	**0.00**	**2**	**2**	**0.04**	**5**	**5**	**0.11**	**0**	**0**	**0.00**	**26**	**26**	**0.88**	**862**	**875**	**22.04**
30	Raigad	0	0	0.00	0	0	0.00	0	0	0.00	1	1	0.05	0	0	0.00	15	15	0.80	180	180	9.59
31	Ratnagiri	0	0	0.00	0	0	0.00	0	0	0.00	1	1	0.06	0	0	0.00	2	2	0.12	93	100	5.76
32	Sindhudurg	0	0	0.00	0	0	0.00	0	0	0.00	0	0	0.00	0	0	0.00	4	4	0.47	43	43	5.06
33	Thane Rural	0	0	0.00	0	0	0.00	0	0	0.00	0	0	0.00	0	0	0.00	28	28	1.17	191	202	7.97
34	Palghar	0	0	0.00	0	0	0.00	8	8	0.25	1	1	0.03	0	0	0.00	15	15	0.47	503	505	15.91
*	**Thane Range**	**0**	**0**	**0.00**	**0**	**0**	**0.00**	**8**	**8**	**0.25**	**3**	**3**	**0.15**	**0**	**0**	**0.00**	**64**	**64**	**3.04**	**1010**	**1030**	**44.29**
35	Mumbai Railway	0	0	0.00	0	0	0.00	1	1	0.00	0	0	0.00	2	7	0.00	62	62	0.00	107	115	0.00
36	Pune Railway	0	0	0.00	0	0	0.00	0	0	0.00	0	0	0.00	0	0	0.00	1	1	0.00	21	22	0.00
37	Nagpur Railway	0	0	0.00	0	0	0.00	0	0	0.00	0	0	0.00	0	0	0.00	0	0	0.00	22	22	0.00
*	**Railway Range**	**0**	**0**	**0.00**	**0**	**0**	**0.00**	**1**	**1**	**0.00**	**0**	**0**	**0.00**	**2**	**7**	**0.00**	**63**	**63**	**0.00**	**150**	**159**	**0.00**
38	Nagpur Commr.	0	0	0.00	0	0	0.00	2	2	0.07	5	5	0.18	0	0	0.00	131	133	4.84	693	713	25.63
39	Pune Commr.	0	0	0.00	0	0	0.00	2	2	0.03	11	11	0.19	0	0	0.00	74	78	1.29	1095	1145	19.08
40	Thane Commr.	0	0	0.00	0	0	0.00	0	0	0.00	8	8	0.16	0	0	0.00	60	60	1.18	1066	1077	20.96
41	Mumbai Commr.	0	0	0.00	1	1	0.01	4	4	0.03	45	45	0.36	0	0	0.00	378	496	2.99	3187	3418	25.23
42	Nasik Commr.	0	0	0.00	0	0	0.00	0	0	0.00	2	2	0.11	0	0	0.00	34	39	1.95	249	278	14.30
43	Aurangabad Commr.	0	0	0.00	1	1	0.06	2	2	0.12	1	1	0.06	0	0	0.00	11	11	0.69	273	290	17.04
44	Solapur Commr.	0	0	0.00	0	0	0.00	0	0	0.00	1	1	0.10	0	0	0.00	4	4	0.39	100	100	9.73
45	Navi Mumbai	0	0	0.00	0	0	0.00	0	0	0.00	9	9	0.42	0	0	0.00	24	28	1.12	399	420	18.66
46	Amravati Commr.	0	0	0.00	2	2	0.23	1	1	0.12	1	1	0.12	0	0	0.00	20	20	2.33	189	201	22.00
*	**Total Commrs.**	**0**	**0**	**0.00**	**4**	**4**	**0.30**	**11**	**11**	**0.38**	**83**	**83**	**1.70**	**0**	**0**	**0.00**	**736**	**869**	**16.79**	**7251**	**7642**	**172.63**
*	**Total of M.S**	**0**	**0**	**0.00**	**7**	**10**	**0.40**	**44**	**42**	**1.61**	**116**	**116**	**2.99**	**5**	**11**	**0.09**	**1120**	**1279**	**32.25**	**13921**	**14480**	**433.01**

प्रकरण - ७
समाजातील दुर्बल (अनुसूचित जाती/जमाती) घटकां बाबत दाखल झालेले गुन्हे

७.१.१ कायदयापुढे सर्व समान आहेत.या मूलभूत तत्वावर भारतीय घटना आधारलेली आहे. घटनेने सर्व नागरिकांना समान हक्क प्रदान केलेले आहेत. कोणत्याही धर्म,जात व लिंग यावरुन भेदभाव केला जाणार नाही, याबाबत घटनेच्या कलम ३८, ३९ व ४६ अन्वये नागरिकांना शाश्वती दिलेली आहे. समाजातील दुर्बल घटकांना सामाजिक व आर्थिक न्याय तसेच शिक्षणाच्या सोयी देणे बाबत शासनाच्या योजना आहेत व त्याद्धारे त्यांच्यावरील अन्याय व पिळवणूक कमी करण्याचे प्रयत्न केले जातात.

७.१.२ महाराष्ट्रात नागरी हक्क संरक्षण शाखा ही प्रामुख्याने अपर पोलीस महासंचालक यांच्या अधिपत्याखाली कार्यरत आहे. अपर पोलीस महासंचालक, नागरी हक्क संरक्षण, म.रा.,मुंबई हे त्यांच्या नियत्रंणाखालील असणारा अधिकारी वर्ग व कर्मचारी वर्ग व सर्व जिल्हयातील घटक प्रमुखांना वेळोवेळी परिपत्रके काढून मार्गदर्शन करीत असतात. तसेच, घटक प्रमुखांकडून माहिती मागवून एकत्रित करतात आणि एकत्रित केलेली माहिती केंद्र शासन, राज्य शासन आणि अनुसूचित जाती /जमाती आयोग, नवी दिल्ली यांना पाठवितात. अपर पोलीस महासंचालक (ना.ह.सं.) यांच्या नियत्रंणाखालील पोलीस अधीक्षक, पोलीस उप अधीक्षक, पोलीस निरीक्षक, सहा. पोलीस निरीक्षक, पोलीस उपनिरीक्षक दर्जाचे अधिकारी व कर्मचारी कार्यरत आहेत. नागरी हक्क संरक्षण कायदा १९५५ व अनुसूचित जाती / जमाती अत्याचार (प्रतिबंधक) कायदा १९८९ अन्वये दाखल झालेले गुन्हे, तसेच तक्रारी अर्ज हे त्या - त्या परिक्षेत्रातील व जिल्हयातील नेमलेले अधिकारी स्वतः फिर्यादी व साक्षीदार यांच्याशी संपर्क साधून कायद्याची योग्य प्रकारे अंमलबजावणी होत आहे किंवा नाही हे पाहतात. सदर कायद्यांची अंमलबजावणी करतांना अनुसूचित जाती / जमाती अत्याचार (प्रतिबंधक) कायदा १९८९ च्या बाबतीत दाखल झालेल्या गुन्हयांचे तपासी अधिकारी हे कमीत कमी पोलीस उप अधीक्षक / सहाय्यक पोलीस आयुक्त दर्जाचे अधिकारी असतात.

७.२.१ या प्रकरणासाठी लागणारी सांख्यिकी माहिती यावर्षी राष्ट्रीय गुन्हे अभिलेख केंद्र, नवी दिल्लीने ठरवून दिलेल्या गुन्हयांचे शीर्षानुसार राज्यातील पोलीस घटकांकडून संकलित करण्यात आली आहे.

CHAPTER - 7
CRIME AGAINST WEAKER SECTIONS (SCs/STs) OF SOCIETY

7.1.1 The Indian Constitution is based upon the cardinal principle of equality before law. The constitution provides equal rights to all its Citizens. No individual shall be discriminated against, on the grounds of religion, caste or sex. Articles 38, 39 and 46 of the constitution assure the citizens to that effect. The State has schemes for the social, economic and educational upliftment of the weaker sections of society as the part of efforts to curb their exploitation.

7.1.2 There is a Protection of Civil Rights branch headed by Addl. Director General of Police for co-ordination and implementation of various Acts, to safeguard the rights of SCs & STs. Addl. Director General of Police (PCR) guides officers under his charge, as well as the Unit Commanders, by issuing appropriate circulars. He collects information from Unit Commanders and sends consolidated reports to Central Govt., State Govt. and to the National Commission for SC's & ST's. Addl. Director General of Police (PCR) is assisted by S.P., Dy.S.P,PI,API,PSI and other staff. These officers, by contacting the complainants and witnesses verify whether, the provisions of Protection of Civil Rights Act - 1955 and Prevention of Atrocities (Scheduled Castes and Scheduled Tribes) Act - 1989 are properly implemented. As per provisions of Prevention of Atrocities (SC's & ST's) Act- 1989, concerned Investigating Officer must not be below the rank of Dy.S.P / A.C.P.

7.2.1 Statistical information required in this year for this chapter has been collected from Police Units in the State as per the crime heads prescribed by the NCRB, New Delhi.

गुन्हयांचे वर्गीकरण

७.३.१ अनुसूचित जाती / जमाती विरुध्दच्या (ज्या मध्ये अनु. जाती / जमातीचा सदस्य बळी आहे.) गुन्हयांचे वर्गीकरण खालील शीर्षामध्ये करण्यात आले आहे.

१. खून
२. बलात्कार
३. अपहरण/पळविणे
४. दरोडा
५. जबरी चोरी
६. जळीत (जाळपोळ)
७. दुखापत
८. नागरी हक्क सरंक्षण कायदा
९. अनुसूचित जाती /जमाती अत्याचार (प्रतिबधंक) कायदा
१०. इतर

७.३.२ भारतीय दंड संहितेखालील गुन्हे उदा. खून, दुखापत, बलात्कार इत्यादी किंवा विशेष कायदयाखालील गुन्हे उदा. नागरी हक्क संरक्षण जाती / जमाती अत्याचार (प्रतिबंधक) कायदा यांचा यापूर्वीच्या प्रकरणांमध्ये उहापोह करण्यात आला आहे. तथापि विश्लेषणाच्या दृष्टीकोनातून त्यांचा या प्रकरणात एकत्रितरीत्या विचार करुन विश्लेषणात्मक विवेचन या प्रकरणात करण्यात आले आहे. राज्यामध्ये अनुसूचित जाती / जमाती अत्याचार (प्रतिबंधक) कायदा व नागरी हक्क संरक्षण कायदा या कायदयांच्या कलमांसमवेत भा.दं.वि. गुन्हयांची कलमे ज्या गुन्हयांत लावण्यात आली आहेत अशा गुन्हयांचेही विवेचन या प्रकरणात करण्यात आले आहे. बऱ्याचवेळा अनुसूचित जाती / जमाती अत्याचार (प्रतिबंधक) कायदा व ना.ह.सं.कायद्यामधील कलमे ही भा.दं.वि. खाली दाखल झालेल्या मूळ गुन्हयांच्या हेतूमध्ये अंतर्भूत नसतात, तथापि काही गुन्हयांत उलट परिस्थिती असते. अशा गुन्हयांत अ. जा. / ज. अत्याचार (प्रतिबंधक) कायद्याची कलमे हा महत्वाचा गाभा असतो व भा.दं.वि.ची कलमे तदनुषंगिक असतात. उदा. दलितांची घरे ज्यावेळी जाळली जातात, त्यावेळी दलितांवरील अत्याचार हा अ.जा. / ज.अत्याचार (प्रतिबंधक) कायदयाचा वा ना.ह.सं. कायदयाचा भाग महत्वाचा असतो व जळीताबाबतची भा.दं.वि. ची कलमे तदनुषंगिक असतात.

लोकसंख्या

७.४.१ सन २०११ च्या जनगणनेनुसार महाराष्ट्र राज्यातील अनुसूचित जातीची लोकसंख्या १,३२,७५,८९८ इतकी आहे व अनुसूचित जमातीची लोकसंख्या १,०५,१०,२१३ इतकी आहे.

Classification of crimes

7.3.1 Crimes against Scheduled Castes/ Scheduled Tribes (in which member of SC/ST are victims) are categorised under following heads.

1. Murder
2. Rape
3. Kidnapping & Abduction
4. Dacoity
5. Robbery
6. Arson
7. Hurt
8. Protection of Civil Rights Act
9. Prevention of Atrocities (on Schedule Castes and Scheduled Tribes) Act
10. Others

7.3.2 IPC crimes such as Murder, Hurt, Rape etc. or crimes under special Acts such as PCR Act & Prevention of Atrocities (SC's / ST's) Act are already included in overall crimes reported under IPC and S.L.L. respectively and discussed in detail in the preceding chapters. Data regarding crime against Prevention of Atrocities (SC's / ST's) Act, which is discussed in the following paragraphs, is an analysis of the overall crime picture, examined separately for exclusive insight. In cases reviewed below, offences under the Prevention of Atrocities (SC's / ST's) Act or P.C.R. Act have been registered together with IPC offences. More often the Prevention of Atrocities (SC's / ST's) Act or PCR sections are incidental rather than integral to the substantive offence. On the other hand, in such cases the opposite is true e.g. in the burning of houses of members of SC's / ST's the offence of arson under IPC is incidental and offence under the P.C.R. / Prevention of Atrocities (SC's / ST's) Act is substantive.

Population

7.4.1 According to 2011 census the Population of Scheduled Castes in Maharashtra State is 1,32,75,898 and of Scheduled Tribes is 1,05,10,213.

अनुसूचित जातीचे सदस्यावरील अत्याचाराचे गुन्हे

७.५.१ सन २०१५ मध्ये राज्यात एकूण १८१६ गुन्हे दाखल झाले असून, सन २०१४ मध्ये दाखल गुन्हयांचे १७६८ मानाने सन २०१५ मध्ये २.७१ % इतकी वाढ झालेली आहे. तसेच सन २०१० चे तुलनेत २०१५ मध्ये ६०.४२% इतकी मोठी वाढ झालेली आहे. सन २०१४ च्या (५३२) तुलनेत सन २०१५ मध्ये (६८०) हिंसामय गुन्हयांत २७.९२% इतकी वाढ झाली. सन २०१४ ते २०१५ मधील गुन्हयांचे तुलनात्मक विवरण तक्ता क्र. ७.१ व ७.२ मध्ये दर्शविण्यात आले आहे.

Crimes Against a Member of Scheduled Castes

7.5.1 1816 such offences have been reported in the State during 2015 as compared to 1768 during 2014, an increase by 2.71 %. As compared to the figure of 2010 there is a significant increase by 60.42% during 2015. As compared to 2014 (532) there is an increase by 27.92% in violent crime during 2015 (680) The comparative analysis of such crimes during 2014 and 2015 is presented in Table No. 7.1 & 7.2.

तक्ता क्र. ७.१

सन २०१४ व २०१५ मध्ये अनुसूचित जातीचे सदस्यांवरील अत्याचारांच्या गुन्हयांची संख्या

Table No. 7.1

Number Of Crimes Committed Against Members Of Scheduled Castes During 2014 And 2015

SR. NO.	YEAR	CRIME AGAINST S.Cs			% VARIATION AS COMPARE TO PREVIOUS YEAR		
		VIOLENT CRIME	OTHER CRIMES	TOTAL	VIOLENT CRIME	OTHER CRIMES	TOTAL
1	2014	532	1236	1768	71.68	-9.65	5.4
2	2015	680	1136	1816	27.92	-8.09	2.71

Note :1) Violent Crime includes Murder, Rape, Kidnapping & Abduction, Dacoity, Robbery, Arson Riots.
2) Other crimes include Hurt, Protection of Civil Right Act & Prevention of Atrocities (S.Cs/ S.Ts) Act and Others

७.५.२ तक्ता क्र. ७.२ मध्ये विविध गुन्हे शीर्षांनुसार सन २०१० ते २०१५ मध्ये अनुसूचित जातीचे सदस्यावरील अत्याचारांचे (ज्यात अनुसूचित जातीचे सदस्य बळी आहेत.) दाखल गुन्हयांची आकडेवारी दर्शविली आहे. तसेच २०१५ मध्ये दाखल झालेल्या गुन्हयांचा २०१० व २०१४ च्या तुलनेतील शेकडा प्रमाणातील बदल दर्शविला आहे.

7.5.2 Crime head-wise incidences reported against S.C's. (in which members of Scheduled Castes are victims) during the period 2010 to 2015 along with percentage variations as compared to 2010 & 2014 are shown in Table No. 7.2.

तक्ता क्र. ७.२

सन २०१० ते २०१५ मध्ये ज्या गुन्ह्यांत अनुसूचित जातीचे सदस्य बळी पडले आहेत असे दाखल गुन्हे

Table No. 7.2

Number Of Crimes Reported From 2010 To 2015, In Which Members Of Scheduled Castes Are Victims.

Sr. No	CRIME HEADS	YEAR						% CHANGE DURING 2015 OVER 2010	% CHANGE DURING 2015 OVER 2014	% SHARE OF 2015
		2010	2011	2012	2013	2014	2015			
1	Protection of Civil Rights Act, 1955	25	10	5	21	5	9	-67.86	80.00	0.50
2	SC/ST (Prevention of Atrocities) Act,1989									
2.1	Murder (Sec.302 IPC)	24	26	36	40	43	42	75.00	-2.32	2.31
2.2	Attempt to commit Murder (Sec.307 IPC)	*	*	*	*	42	46		9.52	2.53
2.3	Rape (Section 376 IPC)	89	95	97	179	179	238	167.42	32.96	13.11
2.4	Attempt to commit Rape (Sec.376/511 IPC)	*	*	*	*	1	1		0.00	0.05
2.5	Assault on women (SC) with intent to outrage her ModeSCy (Sec.354 IPC)	*	*	*	*	352	353		0.28	19.44
2.6	Insult to Modesty of Women (SC) (Sec.509 IPC)	*	*	*	*	6	3		-50.00	0.16
2.7	Kidnapping & Abduction (Sec.363, 364, 364A, 366 to 369 IPC)	25	12	23	33	37	34	36.00	-8.11	1.87
2.8	Dacoity (Sec.395 to 398 IPC)	22	16	16	26	20	19	-13.64	-5.00	1.05
2.9	Robbery (Sec.392 to 394, 397 & 398 IPC)	20	12	13	22	18	19	-5.00	5.56	1.05
2.1	Arson (Sec.435, 436 & 438 IPC)	12	7	9	10	11	11	-8.33	0.00	0.61
2.11	Grievous Hurt (Sec.325, 326, 326A & 326B IPC)	77	84	81	167	26	35	-54.54	34.61	1.93
2.12	Riots (Sec.147, 148, 149, 150 & 151 IPC)	*	*	*	*	224	270		20.53	14.87

2.13	**Other IPC crimes (other than those mentioned in 2.1 to 2.12)**	519	519	544	903	475	434	-16.38	-8.63	23.90
2.14	**SC / ST (Prevention of Atrocities) Act only**	319	577	267	277	329	290	-9.09	-11.85	15.97
	Total Sl.No.2.1 to 2.14)	1107	1133	1086	1657	1763	1795	62.15	1.81	98.84
3	**IPC crimes in which SC/ST (POA) Act is not applied**	*	*	*	*	*	0			
4	**Employment of Manual Scavengers and Conscruction of Dry Latrines (Prohibition) Act, 1993**	*	*	*	*	*	0			
5	**Other SLL Crime again SCs (Other than PCR, SC/ST (POA) Act and Manual Scavenger act)**	*	*	*	*	*	12			0.66
	Total crimes again SCs (Sl.No. 1 to 5)	**1132**	**1143**	**1091**	**1678**	**1768**	**1816**	**60.42**	**2.71**	**100.00**

आलेख क्र. ७.१

सन २०१४ व २०१५ मध्ये अनुसूचित जातीच्या सदस्यांवरील अत्याचाराचे दाखल गुन्हे

Chart No. 7.1

Number Of Crimes Committed Against Scheduled Castes During 2014 & 2015

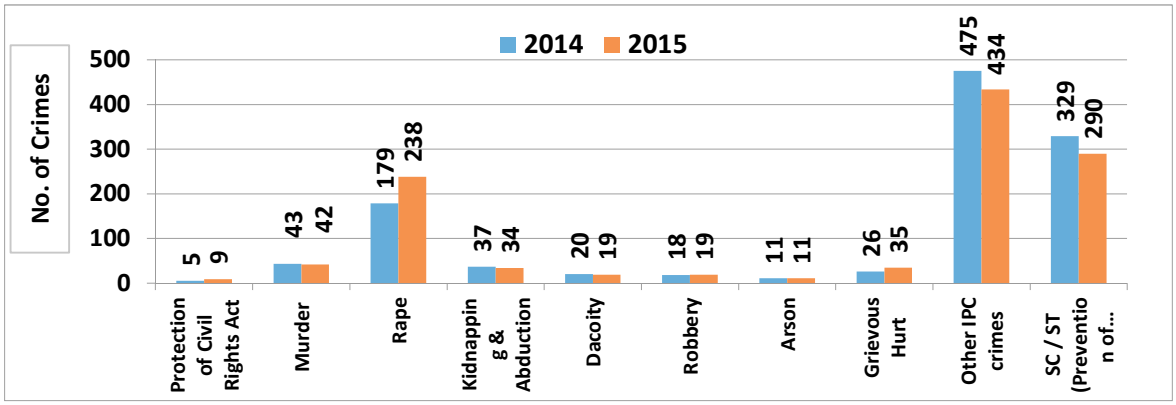

७.५.३ वरील आलेखावरून सन २०१५ मध्ये सन २०१ च्या तुलनेत नागरी हक्क संरक्षण कायदा, बलात्कार, जबरी चोरी व जबरी दुखापत या गुन्हे शीर्षाखालील गुन्ह्यांत वाढ झाल्याचे दिसून येते. तर खून, अपहरण व पळवून नेणे, अनु. जाती / जमाती अत्याचार (प्रतिबंध कायदा) व इतर कायदे या गुन्हे शिर्षाखालील गुन्हयात घट झाल्याचे दिसुन येते. जाळपोळ या गुन्हे शिर्षाखाली कोणताही बदल झालेला नाही.

7.5.3 The above chart reflects that comparatively during 2015, the incidences of Protection of Civil Rights Act,, Rape, Robbery and Grievious Hurt have increased as compared to 2014. While there is decrease in cases of Murder, Kidnapping & Abduction, Dacoity, Other IPC crimes & SC / ST (Prev. of Actrocities) Act only. There no change in crime head of Arson.

७.५.४ आलेख क्र. ७.२ मध्ये सन २०१५ मध्ये अनुसूचित जातीचे सदस्यांवरील अत्याचारांच्या दाखल गुन्हयांची गुन्हे शीर्ष-निहाय टक्केवारी दर्शविण्यात आली आहे.

7.5.4 The data in chart No. 7.2 denotes the percentage share of various crimes committed against members of Scheduled Castes during 2015 **.**

७.५.५ तक्ता क्र.७.३ मध्ये एकूण भा.दं.वि.च्या तुलनेत अनुसूचित जातीच्या सदस्यांवरील अत्याचारांच्या दाखल गुन्हयांची टक्केवारी व फरक दर्शविण्यात आले आहेत.

7.5.5 The data in Table No. 7.3 denotes the percentage share and variation of crimes committed against members of SC's in total IPC Crimes.

आलेख क्र. ७.२

सन २०१५ मध्ये अनुसूचित जातीच्या सदस्यांवरील अत्याचारांचे गुन्हे शिर्ष-निहाय टक्केवारी

Chart No. 7.2

Percentage Share Of Various Crimes Committed Against Members Of Scheduled Castes During 2015

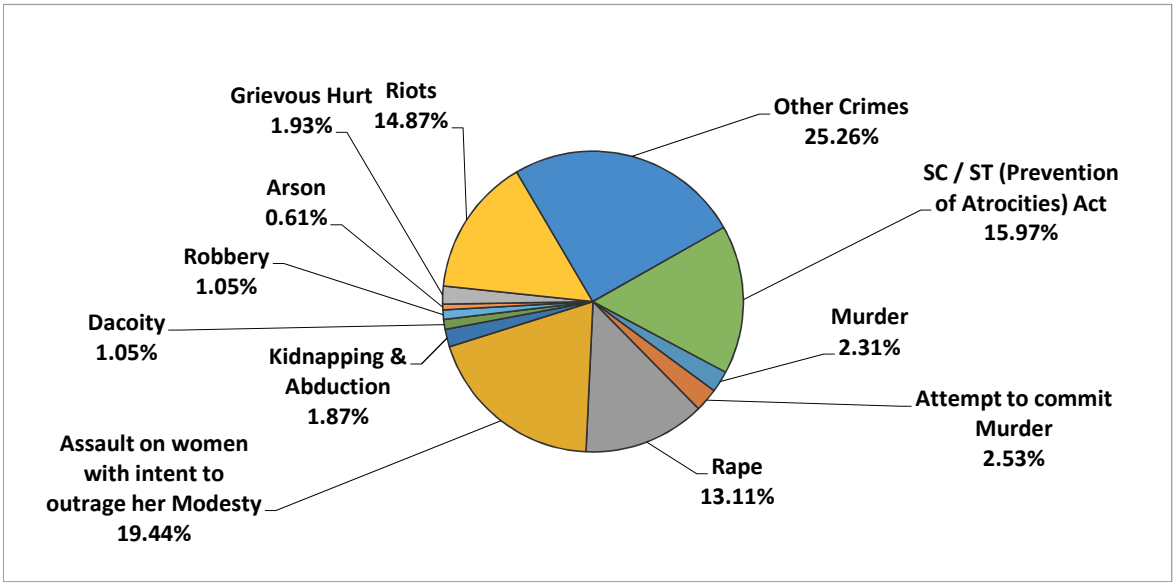

तक्ता क्र. ७.३

सन २०१४ व २०१५ मध्ये एकूण भा.दं.वि. गुन्ह्यांच्या तुलनेत अनुसूचित जातीच्या सदस्यांवरील अत्याचाराचे दाखल झालेल्या गुन्ह्यांची टक्केवारी व फरक

Table No. 7.3

Percentage Share And Variation Of Crimes Committed Against Members Of Sc'S. In Total IPC Crimes In 2014 & 2015

SR. No.	YEAR	TOTAL IPC CRIMES	CRIMES COMMITTED AGAINST SCs.	PERCENTAGE OF CRIMES AGAINST SC's. IN TOTAL IPC CRIMES	PERCENTAGE VARIATION OVER PREVIOUS YEAR	
					IPC	CRIMES COMMITTED AGAINST SCs.
1	2014	249834	1768	0.71	6.59	5.4
2	2015	275414	1816	0.66	10.24	2.71

७.५.६ वरील तक्त्यावरून असे दिसून येते की, सन २०१५ मध्ये एकूण भादंविचे गुन्हयांत २०१४ चे तुलनेत १०.२४% ने वाढ झाली आहे. तर अनुसूचित जातींच्या सदस्यावरील अत्याचारांच्या गुन्हयात २.७१% ने वाढ झालेली आहे.

7.5.6 It is seen from the above table that there is an increase by 10.24 % in total IPC crimes during 2015 as compared to 2014. In the same period, there is an increase by 2.71 % in crimes committed against members of SCs.

गुन्हयांचे विश्लेषण

७.६.१ सन २०१५ मध्ये अनुसूचित जातीच्या व्यक्तीवरील अत्याचारांच्या दाखल गुन्हयांमध्ये सातारा घटकात सर्वात जास्त गुन्हे (१११) दाखल झाले असून, त्याचा राज्याच्या एकूण (१८१६) गुन्हयांपैकी ६.११ % इतका वाटा आहे.

Crime Analysis

7.6.1 During 2015, the maximum number of crimes (111) against Scheduled Castes have been registered in Satara. This accounted for 6.11 % of all such crimes registered in the State (1816).

७.६.२ पोलीस आयुक्तालयांचा विचार करता सन २०१५ मध्ये अनुसूचित जातीवरील अत्याचाराचे सर्वात जास्त गुन्हे मुबई शहरात (३४) दाखल झाले असून ते राज्यातील एकूण (१८१६) दाखल गुन्हयांच्या १.८७ % इतके आहेत. सन २०१५ मध्ये महाराष्ट्रात अनुसूचित जातीच्या व्यक्तीं विरुध्द दाखल झालेले गुन्हे व प्रमाण या बाबतची माहिती तक्ता क्र.३१ मध्ये दर्शविली आहे.

7.6.2 Among Commissionerates, the maximum number of crimes against Scheduled Castes, i.e. 34, have been registered in Mumbai (C) during 2015. This accounted for 1.87 % of all such crimes reported in the State (1816). Unit-wise details of incidences of crime in Maharashtra during 2015, in which a member of SCs. is victim, is shown in Table No.31.

आलेख क्र. ७.३

सन २०१५ मध्ये अनुसूचित जातीच्या सदस्यांवरील अत्याचाराचे दाखल झालेल्या गुन्हयांची घटक-निहाय टक्केवारी

Chart No. 7.3

Unit-Wise Percentage Contribution To Total Crimes Committed Against Members Of Scheduled Castes During 2015

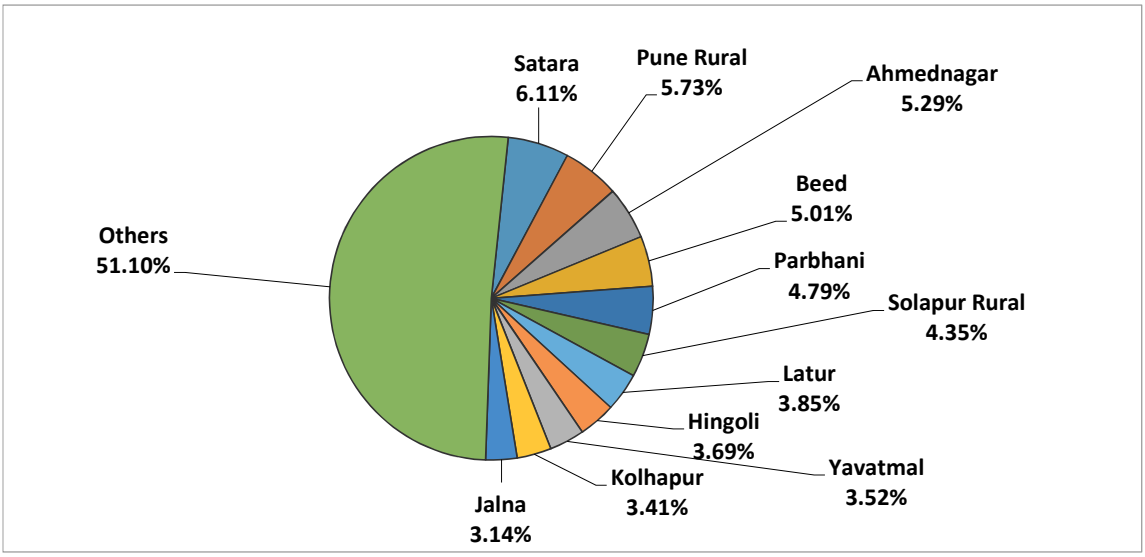

७.६.३ सन २०१५ मध्ये अनुसूचित जातीच्या सदस्यांवरील अत्याचाराच्या विविध गुन्हे शीर्षांखालील दाखल झालेल्या गुन्हयांची घटकनिहाय माहिती तक्ता क्र. ३२ मध्ये दर्शविण्यात आली आहे.

7.6.3 Unit-wise details of various forms of crimes committed against member of SCs. during 2015 is shown in Table No. 32.

७.६.४ सन २०१५ मध्ये ज्यात अनुसूचित जातीचे सदस्य बळी पडले आहेत अशा विविध शीर्षांखाली दाखल झालेल्या गुन्हयांचे सविस्तर विश्लेषण पुढीलप्रमाणे आहे.

7.6.4 A detailed account of the Crimes, in which members of Scheduled Castes are victims, during the year 2015 is presented below.

खून

७.६.५ सन २०१५ मध्ये खुनाचे ४२ गुन्हे दाखल झाले. सन २०१४ मध्ये ४३ गुन्हे दाखल होते, अशा प्रकारे १ गुन्हयांची (२.३%) घट झाली आहे. तसेच २०१० (२४) च्या तुलनेत सन २०१५ मध्ये ७५ % ने वाढ झाल्याचे दिसून येते.

Murder

7.6.5 42 cases of Murder have been reported during 2015, as against 43 during 2014. Thus there is a decrease by 1 cases (2.3 %) . As compared to 2010 (24) there is an increase by 75. % during 2015.

बलात्कार

७.६.६ सन २०१४ (१७९ गुन्हे) व सन २०१५ (२३८ गुन्हे) मध्ये हया शीर्षाखाली गुन्हयांमध्ये १३.११% वाढ आहे. सन २०१० (८९ गुन्हे) च्या तुलनेत सन २०१५ मध्ये १६७.४२ % ने वाढ झाल्याचे दिसते.

Rape

7.6.6 During 2015 (238) offences have been registered as compared to 2014 (179) offences, there is an increase by 13.11%. As compared to 2010 (89) offences there is an increase by 167.42 % during 2015 .

अपहरण व पळवून नेणे

७.६.७ सन २०१५ मध्ये ३४ गुन्हे तर २०१४ मध्ये ३७ गुन्हे दाखल होते. या शीर्षाखाली ०३ गुन्हयांची (८.१० %) ने घट झाली आहे. सन २०१० (२५ गुन्हे) च्या तुलनेत सन २०१५ मध्ये ३६% ने वाढ झाल्याचे दिसून येते.

Kidnapping & Abduction

7.6.7 During 2015 (34 offences) have been registered as compared to 2014 (37 offences), there is a decrease by 8.10%. As compared to 2010 (25 offences) there is an increase by 36% during 2015.

दरोडा

७.६.८ सन २०१४ (२० गुन्हे) च्या तुलनेत सन २०१५ (१९ गुन्हे) मध्ये या शीर्षाखाली ०१ गुन्हयाने (५%) घट झाली आहे. सन २०१० (२२ गुन्हे) च्या तुलनेत सन २०१५ मध्ये ३ गुन्हयांची (१३.६४%) घट झालेली आहे

Dacoity

7.6.8 During 2015 (19 offences) have been registered as compared to 2014 (20 offences), there is a decrease by 01 offence (5%). As compared to 2010 (22 offences) there is decrease by 3 offences (13.64%) during year 2015.

जबरी चोरी

७.६.९ सन २०१४ (१८ गुन्हे) च्या तुलनेत सन २०१५ (१९ गुन्हे) मध्ये या शीर्षाखाली १ गुन्हयाने (५.५६ %) वाढ झालेली आहे. सन २०१० (२० गुन्हे) च्या तुलनेत सन २०१५ मध्ये १ (५%) ने घट झाल्याचे दिसून येते.

Robbery

7.6.9 During 2015 (19 offences) have been registered as compared to 2014 (18 offences), there is an increase by one case (5.56%). As compared to 2010 (20 offences), there is a decrease by one case (5%) during year 2015.

जाळपोळ

७.६.१० सन २०१४ (११ गुन्हे) या तुलनेत सन २०१५ (११ गुन्हे) मध्ये हया शिर्षा खाली समान गुन्हे दाखल झाल्याचे दिसून येते. मात्र २०१० (१२ गुन्हे) च्या तुलनेत सन २०१५ (११ गुन्हे) मध्ये ८.३३% ने घट दिसून येत आहे.

Arson

7.6.10 During 2015 (11 offences) have been registered as compared to 2014 (11 offences), there is equal cases registered in 2014 & 2015. There is decrease by 8.33% as compared to 2010 (12 offences).

गंभीर दुखापत

७.६.११ सन २०१४ मध्ये (२६ गुन्हे) च्या तुलनेत सन २०१५ (३५ गुन्हे) मध्ये ३४.६१ % वाढ झाली आहे तर २०१० (७७ गुन्हे) च्या तुलनेत सन २०१५ मध्ये ५४.५४ % ने घट झाली आहे.

Grevious Hurt

7.6.11 During 2015 (35 offences) there is an increase in incidences by 34.61% as compared to 2014 (26 offences) & 54.54 % decrease as compared to 2010 (77 offences).

नागरी हक्क संरक्षण कायदा

७.६.१२ सन २०१४ मध्ये (५ गुन्हे) च्या तुलनेत सन २०१५ मध्ये (९ गुन्हे) दाखल झाले आहेत. अशा प्रकारे ४ गुन्हयांची (८० %) वढ झालेली आहे. तसेच सन २०१० (२५ गुन्हे) च्या तुलनेत सन २०१५ मध्ये ६७.८६ % ने घट झालेली आहे.

Protection of Civil Rights Act

7.6.12 As compared to 2014 (05 offences), there is an increase cases by (80%) during 2015 (09 offences). There is decrease by 67.86% as compared to 2010 (25 offences).

अनुसूचित जाती/ जमाती अत्याचार (प्रतिबंधक) कायदा

७.६.१३ सन २०१४ (३२९ गुन्हे) च्या तुलनेत सन २०१५ मध्ये (२९० गुन्हे) मध्ये (११.८५ %) ने घट झाली आहे. सन २०१० (३१९ गुन्हे) च्या तुलनेत सन २०१५ मध्ये ९.०९ % ने घट झाली आहे.

Prevention of Atrocities (SCs/STs) Act.

7.6.13 During 2014 total (329 offences) have been registered, there is a decrease by (11.85%) during 2015 (290 offences).There is a decrease by (9.09 %) as compared to 2010 (319 offences).

इतर भा.दं.वि. गुन्हे

७.६.१४ सन २०१४ (४७५ गुन्हे) च्या तुलनेत सन २०१५ (४३४ गुन्हे) मध्ये ८.६३% ने घट झाली आहे. तर सन २०१० (५१९ गुन्हे) च्या तुलनेत सन २०१५ मध्ये १६.३८% ने घट झाली आहे.

Other IPC Offences

7.6.14 During 2014 (475 offences) have been registered, there is a decrease as compared to 2015 (434 offences) by 8.63%. There is a decrease by (16.38%) as compared to 2010 (519 offences).

अनुसूचित जमातीच्या सदस्यांवरील अत्याचाराचे गुन्हे

७.७.१ सन २०१५ मध्ये अनु. जमातीवरील अत्याचारांचे एकूण ४८३ गुन्हे दाखल झाले आहेत तर सन २०१४ मध्ये ४४३ गुन्हे दाखल होते. सन २०१५ मध्ये २०१४ च्या तुलनेत ९.०३ % ने वाढ झालेली आहे. तसेच सन २०१० च्या (२९२ गुन्हे) तुलनेत सन २०१५ मध्ये ६५.४१ % ने वाढ झालेली आहे

Crime Against Members of Scheduled Tribes

7.7.1 483 offences have been committed against members of S.T's during 2015, as against 443 during the year 2014, an increase by 9.03 %. Similarly there is an increase by 65.41% as compared to the figures of 2010 (292 offences).

७.७.२ खालील तक्त्यात अनुसूचित जमातीवरील अत्याचारांचे २०१४ व २०१५ मध्ये दाखल गुन्हे व टक्केवारी याबाबत माहिती दिली आहे.

7.7.2 The following table shows the cases against Scheduled Tribes in the years 2014 and 2015.

तक्ता क्र. ७.४

सन २०१४ व २०१५ मध्ये अनुसूचित जमातीचे सदस्यांवरील अत्याचाराच्या गुन्हयांची संख्या

Table No.7.4

Number Of Crimes Committed Against Members Of Scheduled Tribes During 2014 & 2015

SR. NO.	YEAR	CRIME AGAINST STs			% VARIATION AS COMPARE TO PRE. YEAR		
		VIOLENT	OTHER	TOTAL	VIOLENT	OTHER	TOTAL
1	2014	165	278	443	37.5	-5.76	6.75
2	2015	177	306	483	7.27	10.07	9.02

Note : 1) Violent Crime includes Murder, Rape, Kidnapping & Abduction, Dacoity, Robbery, Arson & Riots
2) Other Crimes include Hurt, Prevention of Atrocities (SCs / STs) Act and Others.

७.८.१ तक्ता क्र. ७.५ मध्ये विविध गुन्हे शिर्षानुसार सन २०१० ते २०१५ मध्ये अनुसूचित जमातीचे सदस्यांवरील अत्याचारांच्या (ज्यात अनुसूचित जमातीचे सदस्य बळी आहेत) दाखल गुन्हयांची आकडेवारी दर्शविली आहे. २०१५ मध्ये दाखल झालेल्या गुन्हयांचा २०१० व २०१४ च्या तुलनेतील शेकडा प्रमाणातील बदल दर्शविला आहे.

7.8.1 Crime head-wise incidences reported against ST's (in which a member of Scheduled Tribes is victim) during the years 2010 to 2015 along with percentage variations as compared to 2010 and 2014 are shown in Table No. 7.5

तक्ता क्र.७.५

सन २०१० ते २०१५ मध्ये ज्या गुन्हयात अनुसूचित जमातीचे सदस्य बळी पडले आहेत असे दाखल झालेले गुन्हे

Table No. 7.5

Number Of Crimes Reported From 2010 To 2015, In Which Members Of Scheduled Tribes Are Victim.

Sr. No.	CRIME HEADS	YEAR						% CHANGE DURING 2015 AS COMPARED TO 2010	% CHANGE DURING 2015 AS COMPARED TO 2014	% SHARE IN 2015
		2010	2011	2012	2013	2014	2015			
1	Protection of Civil Rights Act, 1955	0	0	1	1	9	1	0.00	-88.89	0.21
2	SC/ST (Prevention of Atrocities) Act,1989									
2.1	Murder (Sec.302 IPC)	9	16	11	11	20	11	22.22	-45.00	2.28
2.2	Attempt to commit Murder (Sec.307 IPC)	*	*	*	*	7	7		0.00	1.45
2.3	Rape (Section 376 IPC)	46	57	56	91	86	86	86.95	0.00	17.81
2.4	Attempt to commit Rape (Sec.376/511 IPC)	*	*	*	*	0	0			

2.5	**Assault on women (ST) with intent to outrage her ModeSCy (Sec.354 IPC)**	*	*	*	*	118	35		-70.34	7.25
2.6	**Insult to ModeSCy of Women (ST) (Sec.509 IPC)**	*	*	*	*	2	1		-50.00	0.21
2.7	**Kidnapping & Abduction (Sec.363, 364, 364A, 366 to 369 IPC)**	8	11	7	9	8	10	25.00	25.00	2.07
2.8	**Dacoity (Sec.395 to 398 IPC)**	1	3	4	6	0	2	100.00	200.00	0.41
2.9	**Robbery (Sec.392 to 394, 397 & 398 IPC)**	1	2	3	2	5	1	0.00	-80.00	0.21
2.1	**Arson (Sec.435, 436 & 438 IPC)**	7	4	1	5	4	2	-71.43	-50.00	0.41
2.11	**Grievous Hurt (Sec.325, 326, 326A & 326B IPC)**	11	18	17	29	10	9	-18.18	-10.00	1.86
2.12	**Riots (Sec.147, 148, 149, 150 & 151 IPC)**	*	*	*	*	42	58		38.09	12.01
2.13	**Other IPC crimes (other than those mentioned in 2.1 to 2.12)**	154	149	155	213	86	81	-47.40	-5.81	16.77
2.14	**SC / ST (Prevention of Atrocities) Act only**	55	61	53	45	55	100	81.81	81.82	20.70
	Total Sl.No.2.1 to 2.14)	292	321	307	407	443	483	66.55	9.03	100.00
3	**IPC crimes (in which) SC/ST (POA) Act is not applied**	*	*	*	*	0	0			
4	**Employment of Manual Scavengers & Construction of Dry Latrines (Prohibition) Act, 1993**	*	*	*	*	0	0			
5	**Other SLL Crime against STs (Other than PCR, SC/ST (POA) Act and Manual Scavenger act)**	*	*	*	*	0	0			
	Total crimes again STs (Sl.No. 1 to 5)	**292**	**321**	**308**	**415**	**443**	**483**	**65.41**	**9.03**	**100.00**

टीपः वरील तक्त्यात दर्शविलेलेल्या गुन्हे शीर्षकांपैकी अनुक्रमांक ४,५ व ८ शीर्षकाची माहिती सन २००९ पासून स्वतंत्ररीत्या संकलित केली जात आहे. तत्पूर्वी संकलित केली जात नव्हती.

Note:- Out of crime heads indicated in above table, information on crime heads with Sr. No. 4,5 and 8 is compiled seperately since 2009. Earlier it was not compiled.

आलेख क्र. ७.४

सन २०१४ व २०१५ मध्ये अनुसूचित जमातीवरील अत्याचाराचे दाखल गुन्हे

Chart No.7.4

Incidences Of Crimes Committed Against Scheduled Tribes During 2014 & 2015

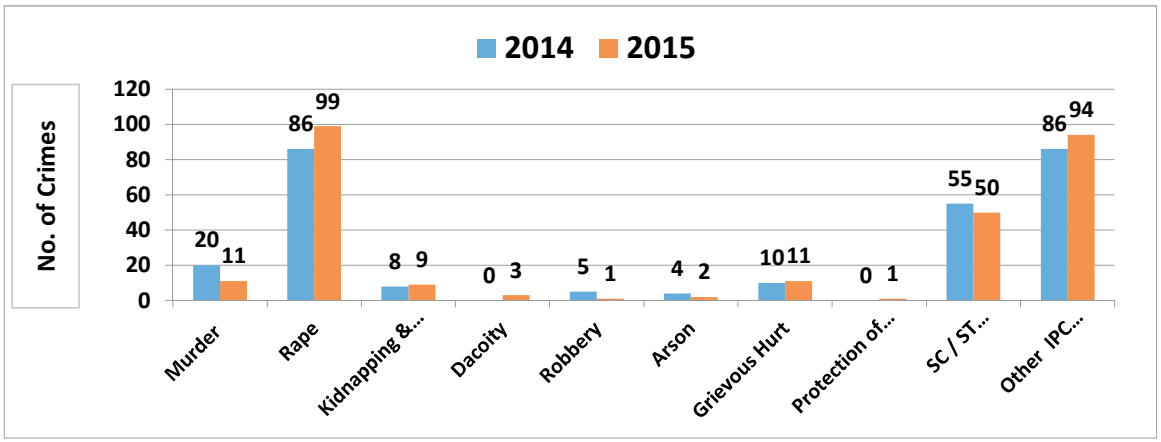

७.८.२ वरील ७.४ च्या आलेखावरून असे दिसून येते की, सन २०१५ मध्ये सन २०१४ च्या तुलनेत बलात्कार, अपहरण व पळवून नेणे, दरोडा, गंभीर दुखापत, नागरी हक्क संरक्षण कायदा व इतर भादवि गुन्हे या गुन्हयामध्ये वाढ झाली असून अन्य गुन्हयांचे शीर्षाखाली घट झाल्याचे दिसून येते.

7.8.2 The data in Chart No. 7.4 shows that during 2015, there is an increase in incidences of Rape, Kidnapping & Abduction, Dacoity, Grievous Hurt, Protection of Civil Right Act and Other IPC as compared to 2014, while there is decrease under other heads.

७.८.३ आलेख क्र. ७.५ मध्ये सन २०१५ मध्ये अनुसूचित जमातीचे सदस्यांवरील अत्याचारांच्या दाखल झालेल्या गुन्हयांची शीर्षनिहाय टक्केवारी दर्शविण्यात आली आहे.

7.8.3 The data in Chart No.7.5 denotes the percentage share of various crimes committed against members of STs during 2015, under different heads.

७.८.४ तक्ता क्र. ७.६ मध्ये एकूण भा.दं.वि.च्या तुलनेत अनुसूचित जमातीच्या सदस्यावरील अत्याचारांच्या दाखल गुन्हयांची टक्केवारी व फरक दर्शविण्यात आला आहे.

7.8.4 The data in Table No.7.6 denotes the percentage share and variation of crimes committed against members of ST's in total IPC crimes.

आलेख क्र. ७.५

सन २०१५ मधील अनुसूचित जमातीचे सदस्यावरील अत्याचारांच्या गुन्ह्यांची शिर्षनिहाय टक्केवारी

Chart No.7.5

Percentage Share Of Various Crimes Committed Against Members Of Scheduled Tribes During 2015

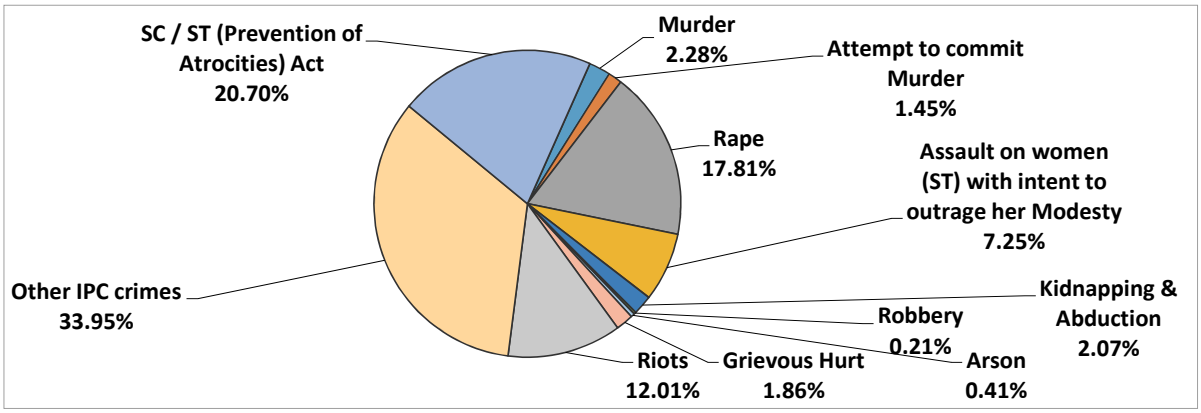

तक्ता क्र. ७.६

सन २०१४ व २०१५ मध्ये एकूण भा.दं.वि. गुन्ह्यांच्या तुलनेत अनुसूचित जमातीच्या सदस्यांवरील अत्याचाराचे दाखल झालेल्या गुन्ह्यांची टक्केवारी व फरक

Table No. 7.6

Percentage Share And Variation Of Crimes Committed Against Members Of ST's In Total IPC Crimes In 2014 & 2015

Sr. No.	YEAR	TOTAL IPC CRIMES	CRIMES COMMITTED AGAINS STs	PERCENTAGE OF CRIMES AGAINST STs IN TOTAL IPC CRIMES	PERCENTAGE VARIATION AS COMPARE TO PREV. YEAR	
					I PC	CRIMESCOMMITTED AGAINST STs
1	2014	249834	443	0.18	6.59	6.75
2	2015	275414	483	0.18	10.24	9.02

७.८.५ वरील तक्त्यावरून असे दिसून येते की, सन २०१५ मध्ये एकूण भादंविचे गुन्हयात २०१४ चे तुलनेत १०.२४ % ने वाढ झाली आहे तर अनुसूचित जमातींच्या सदस्यांवरील अत्याचारांच्या गुन्हयात ९.०२ % ने वाढ झालेली आहे.

7.8.5 It is seen from the above table that there is an increase by 10.24 % in total IPC crimes during 2015 as compared to 2014 . In the same period there is an increase by 9.02% in crimes committed against member of ST's.

आलेख क्र. ७.६

सन २०१५ मधील अनुसूचित जमातीच्या सदस्यांवरील अत्याचारांचे दाखल झालेल्या गुन्हयांची घटक-निहाय टक्केवारी

Chart No. 7.6

Unit-Wise Percentage Contribution Of All Crimes Committed Against Members Of Scheduled Tribes During 2015

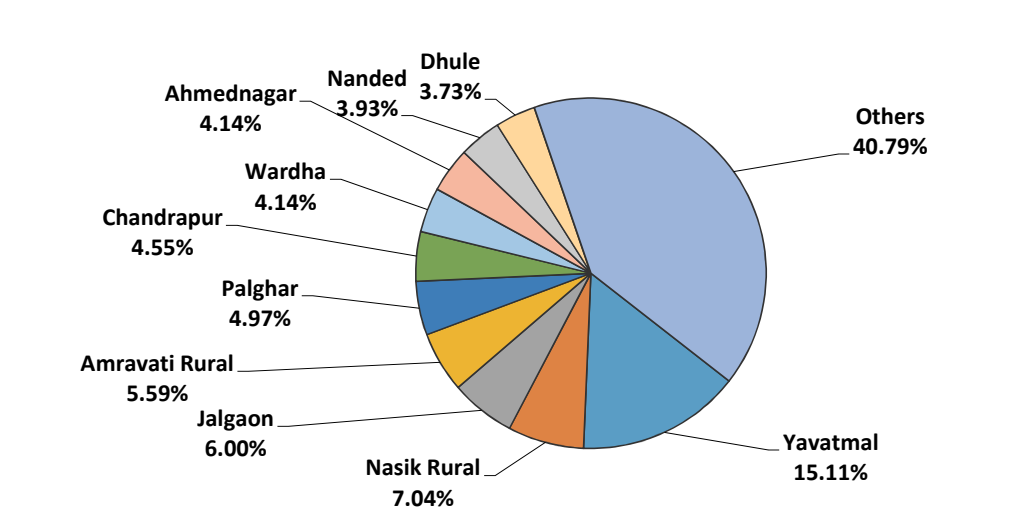

७.८.६ सन २०१५ मध्ये अनुसूचित जमातीचे सदस्यावरील अत्याचारांच्या विविध गुन्हे शीर्षांखाली दाखल झालेल्या गुन्हयांची घटक-निहाय माहिती तक्ता क्र. ३३ मध्ये दर्शविण्यात आली आहे.

7.8.6 Unit-wise details of various forms of crimes committed against members of STs during 2015 are shown in Table No.33.

गुन्हयांचे विश्लेषण

७.९.१ सन २०१५ मध्ये अनुसूचित जमातीचे सदस्यांवरील अत्याचारांचे एकूण ४८३ गुन्हे दाखल झालेले आहेत. सन २०१४ मध्ये ४४३ गुन्हे दाखल झालेले होते. अर्थात ९.०२% ने वाढ झालेली आहे.

७.९.२ राज्यात सर्वात जास्त यवतमाळ या घटकांमध्ये अनुसूचित जमातीवर ७३ गुन्हे दाखल झाले असून महाराष्ट्रातील एकूण गुन्हयांमध्ये त्यांचा टक्केवारी हिस्सा १५.११ % इतका आहे.

७.९.३ सन २०१५ मध्ये अनुसूचित जमातीचे सदस्य बळी पडले आहेत, अशा विविध शीर्षाखाली दाखल झालेल्या गुन्हयांचे सविस्तर विश्लेषण पुढील प्रमाणे आहे.

खून

७.९.४ सन २०१५ (११ गुन्हे) च्या तुलनेत सन २०१४ (२० गुन्हे) मध्ये या शीर्षाखाली ४५% घट झाली आहे. तर सन २०१० (९ गुन्हे) च्या तुलनेत २२.२२% ने वाढ झाल्याचे दिसते.

बलात्कार

७.९.५ सन २०१४ (८६ गुन्हे) व सन २०१५ (८६ गुन्हे) मध्ये समान गुन्हे दाखल आहेत. तर २०१० (४६ गुन्हे) तुलनेत ८६.९५ % वाढ दिसून येते.

अपहरण व पळवून नेणे

७.९.६ सन २०१४ (८ गुन्हे) च्या तुलनेत सन २०१५ (१० गुन्हे) मध्ये गुन्हयात २५% ने वाढ झाल्याचे दिसून येते. तसेच सन २०१० (८ गुन्हे) च्या तुलनेत (२५%) वाढ झालेली आहे.

दरोडा

७.९.७ सन २०१४ (० गुन्हे) च्या तुलनेत सन २०१५ (२ गुन्हे) मध्ये २ गुन्हयांची (२०० %) वाढ झालेली आहे.

Crime Trends

7.9.1 During the year 2015, 483 cases of crimes against Scheduled Tribes have been reported as compare to 443 during 2014, i.e. an increase by (9.02 %).

7.9.2 Yavatamal has reported the maximum offences, 73 cases against ST's, i.e. 15.11 % of all such crimes registered in the State.

7.9.3 A detailed account of the Crimes committed, in which members of Scheduled Tribes during the year 2015, is presented below.

Murder

7.9.4 As compared to 2014 (20 offences), there is a decrease by 45% during the year 2015 (11 offences) under this head & also as compared to 2010 (9 offences) there is an increase by 22.22%.

Rape

7.9.5 As compared to 2014 (86 offences), there is an equal offences during 2015 (86 offences) and as compared to 2010 (46 offences) there is an increase by 86.95 %.

Kidnapping & Abduction

7.9.6 As compared to 2014 (8 offences), there is an increase by 25% during 2015 (10 offences) and as compared to 2010 (8 offence) there is an increase by 25%.

Dacoity

7.9.7 As compared to 2014 (0 offences), there is a increase by 200% during 2015 (2 offence).

जबरी चोरी

७.९.८ सन २०१४ (५ गुन्हे) च्या तुलनेत सन २०१५ मध्ये (१ गुन्हा) दाखल आहे. सदर गुन्हयात ८०% ने घट झालेली आहे.

Robbery

7.9.8 As compared to 2014 (5 offences), there is an decrease by 80% during 2015 (1 offences).

जाळपोळ

७.९.९ सन २०१४ (४ गुन्हे) व २०१० (७ गुन्हे) च्या तुलनेत सन २०१५ मध्ये (२ गुन्हे) अनुक्रमे ५० % व (७१.४२%) ने घट झाली आहे.

Arson

7.9.9 As compared to 2014 (4 offences) and 2010 (7 offences) there is decrease by 50 % and 71.42% respectively during the year 2015 (2 offences).

गंभीर दुखापत

७.९.१० सन २०१४ (१० गुन्हे) च्या तुलनेत सन २०१५ (९ गुन्हे) मध्ये गुन्ह्यांत १०% घट झाली आहे. तर सन २०१० (११ गुन्हे) च्या तुलनेत १८.१८ % नी घट झाली आहे.

Grievious Hurt

7.9.10 As compared to 2014 (10 offences), there is a decrease by 10% during 2015 (9 offences) and there is a decrease by 18.18% as compared to 2010 (11 offences).

अनुसूचित जाती /जमाती अत्याचार (प्रतिबंधक) कायदा

७.९.११ सन २०१४ (५५ गुन्हे) च्या तुलनेत सन २०१५ (१०० गुन्हे) मध्ये या शीर्षाखाली ४५ गुन्हयांनी (८१.८२%) वाढ झाली आहे.

Prevention of Atrocities (SC / ST) Act

7.9.11 As compared to 2014 (55 offences) there is an increase (45 offences) by 81.81% during 2015 (100 offences).

इतर गुन्हे

७.९.१२ सन २०१४ (८६ गुन्हे) च्या तुलनेत सन २०१५ (८१ गुन्हे) मध्ये ५.८१ % ने घट झाली आहे. तर सन २०१० (१५४ गुन्हे) च्या तुलनेत ४७.४०% ने घट झाली आहे.

Other Offences

7.9.12 As compared to 2014 (86 offences,) there is a decrease by 5.81 % during 2015 (81 offences) and as compared to 2010 (154 offences), there is a decrease by 47.40%.

तक्ता क्र. ३१

सन २०१५ मध्ये महाराष्ट्र राज्यात अनुसूचित जाती संबंधित ज्यात अनुसूचित जातीचे सदस्य बळी आहेत असे दाखल झालेले गुन्हे व टक्केवारी

Table No. 31

Incidences & Percentage Of Crimes Commited Against Scheduled Castes (In Which Member Of S.C.'S Is Victim) In Maharashtra During 2015

Sr. No.	UNIT	Incidence	Percentage Contribution State Total	SCs Population(In Lakhs) census 2011	Rate Of Total Cognizable Crimes	Rank on the Basis of Col.6	Rank on the Basis of Col.4
1	2	3	4	5	6	7	8
1	Akola	21	1.16	3.64	5.77	39	30
2	Amravati Rural	56	3.08	3.95	14.18	23	12
3	Buldhana	48	2.64	4.71	10.19	31	18
4	Yavatmal	64	3.52	3.29	19.45	11	9
5	Washim	54	2.97	2.29	23.58	6	15
*	**Amravati Range**	**243**	**13.38**	**17.88**	**13.59**		
6	Aurangabad Rural	48	2.64	3.09	15.53	16	19
7	Jalna	57	3.14	2.72	20.96	9	11
8	Beed	91	5.01	3.51	25.93	5	4
9	Osmanabad	55	3.03	2.65	20.75	10	14
*	**Aurangabad Range**	**251**	**13.82**	**11.97**	**20.97**		
10	Nanded	56	3.08	6.4	8.75	34	13
11	Latur	70	3.85	4.81	14.55	19	7
12	Parbhani	87	4.79	2.47	35.22	2	5
13	Hingoli	67	3.69	1.83	36.61	1	8
*	**Nanded Range**	280	15.42	15.51	18.05		
14	Kolhapur	62	3.41	5.05	12.28	27	10
15	Pune Rural	104	5.73	4.6	22.61	8	2
16	Sangli	53	2.92	3.53	15.01	18	17
17	Satara	111	6.11	3.23	34.37	3	1
18	Solapur Rural	79	4.35	5.12	15.43	17	6
*	**Kolhapur Range**	**409**	**22.52**	**21.53**	**19.00**		
19	Bhandara	19	1.05	2	9.50	33	33
20	Chandrapur	39	2.15	3.48	11.21	29	21
21	Nagpur Rural	24	1.32	3.92	6.12	38	28
22	Wardha	27	1.49	1.89	14.29	21	24
*	**Nagpur Range**	**109**	**6.00**	**11.29**	**9.65**		
23	Gadchiroli	9	0.50	1.21	7.44	36	41
24	Gondia	21	1.16	1.76	11.93	28	31
*	**Gadchiroli Range**	**30**	**1.65**	**2.97**	**10.10**		
25	Ahmednagar	96	5.29	5.74	16.72	14	3
26	Dhule	34	1.87	1.28	26.56	4	22
27	Jalgaon	54	2.97	3.89	13.88	24	16
28	Nasik Rural	46	2.53	3.2	14.38	20	20
29	Nandurbar	6	0.33	0.48	12.50	26	42
*	**Nasik Range**	**236**	**13.00**	**14.59**	**16.18**		
30	Raigad	21	1.16	1.28	16.41	15	32
31	Ratnagiri	13	0.72	0.67	19.40	12	36
32	Sindhudurg	10	0.55	0.56	17.86	13	40
33	Thane Rural	18	0.99	1.26	14.29	22	35
34	Palghar	11	0.61	0.87	12.64	25	38
*	**Thane Range**	**73**	**4.02**	**4.64**	**15.73**		
35	Mumbai Railway	1	0.06		0.00	44	44
36	Pune Railway	0	0.00		0.00	45	45
37	Nagpur Railway	0	0.00		0.00	46	46
*	**Railway Range**	**1**	**0.06**		**0.00**		
38	Nagpur Commr.	27	1.49	4.75	5.68	40	25
39	Pune Commr.	19	1.05	7.2	2.64	42	34
40	Thane Commr.	27	1.49	4.17	6.47	37	26
41	Mumbai Commr.	34	1.87	8.03	4.23	41	23
42	Nasik Commr.	6	0.33	2.35	2.55	43	43
43	Aurangabad Commr.	22	1.21	2.31	9.52	32	29
44	Solapur Commr.	12	0.66	1.38	8.70	35	37
45	Navi Mumbai	11	0.61	1.07	10.28	30	39
46	Amravati Commr.	26	1.43	1.12	23.21	7	27
*	**Total Commrs.**	**184**	**10.13**	**32.38**	**5.68**		
**	**Total**	**1816**	**100.00**	**132.76**	**13.68**		

तक्ता क्र. ३२

सन २०१५ मध्ये महाराष्ट्र राज्यात अनुसूचित जाती संबंधित ज्यात अनुसूचित जातीचे सदस्य बळी आहेत असे दाखल झालेले गुन्हे व टक्केवारी

Table No. 32

Incidences & Percentage Of Crimes Commited Against Scheduled Castes (In Which Member Of S.C.'S Is Victim) In Maharashtra During 2015

Sr. No.	UNIT	SCs Population (In Lakhs) census 2011	Protection of Civil Rights Act, 1955			SC/ST (Prevention of Atrocities) Act											
						Murder (Section 302 IPC)			Attempt to commit Murder (Section 307 IPC)			Rape (Section 376 IPC)			Attempt to commit Rape (Section 376/511 IPC)		
			I	V	R	I	V	R	I	V	R	I	V	R	I	V	R
1	2	3	4	5	6	7	8	9	10	11	12	13	14	15	16	17	18
1	Akola	3.64	0	0	0.00	0	0	0.00	0	0	0.00	5	5	1.37	0	0	0
2	Amravati Rural	3.95	0	0	0.00	0	0	0.00	1	2	0.25	13	13	3.29	0	0	0
3	Buldhana	4.71	0	0	0.00	1	1	0.21	0	0	0.00	9	9	1.91	0	0	0
4	Yavatmal	3.29	0	0	0.00	1	1	0.30	1	1	0.30	9	9	2.74	0	0	0
5	Washim	2.29	0	0	0.00	1	1	0.44	3	3	1.31	7	7	3.06	0	0	0
*	**Amravati Range**	**17.88**	**0**	**0**	**0**	**3**	**3**	**0.95**	**5**	**6**	**1.87**	**43**	**43**	**12.37**	**0**	**0**	**0**
6	Aurangabad Rural	3.09	0	0	0.00	3	3	0.97	2	2	0.65	2	2	0.65	0	0	0
7	Jalna	2.72	0	0	0.00	1	1	0.37	1	1	0.37	3	3	1.10	0	0	0
8	Beed	3.51	0	0	0.00	4	4	1.14	2	2	0.57	5	5	1.42	0	0	0
9	Osmanabad	2.65	0	0	0.00	1	1	0.38	3	10	1.13	5	5	1.89	0	0	0
*	**Aurangabad Range**	**11.97**	**0**	**0**	**0.00**	**9**	**9**	**2.8555**	**8**	**15**	**2.717**	**15**	**15**	**5.061**	**0**	**0**	**0**
10	Nanded	6.4	0	0	0.00	1	1	0.16	2	4	0.31	11	11	1.72	0	0	0
11	Latur	4.81	0	0	0.00	3	3	0.62	1	1	0.21	7	7	1.46	0	0	0
12	Parbhani	2.47	0	0	0.00	0	0	0.00	4	4	1.62	5	5	2.02	0	0	0
13	Hingoli	1.83	0	0	0.00	0	0	0.00	2	2	1.09	6	6	3.28	0	0	0
*	**Nanded Range**	**15.51**	**0**	**0**	**0.00**	**4**	**4**	**0.78**	**9**	**11**	**3.23**	**29**	**29**	**8.48**	**0**	**0**	**0**
14	Kolhapur	5.05	4	4	0.79	0	0	0.00	1	4	0.20	6	6	1.19	0	0	0
15	Pune Rural	4.6	2	2	0.43	3	3	0.65	2	2	0.43	11	12	2.39	0	0	0
16	Sangli	3.53	0	0	0.00	0	0	0.00	1	1	0.28	8	8	2.27	0	0	0
17	Satara	3.23	0	0	0.00	4	4	1.24	2	2	0.62	10	10	3.10	1	1	0.31
18	Solapur Rural	5.12	0	0	0.00	3	3	0.59	1	1	0.20	15	15	2.93	0	0	0
*	**Kolhapur Range**	**21.53**	**6**	**6**	**1.23**	**10**	**10**	**2.48**	**7**	**10**	**1.73**	**50**	**51**	**11.87**	**1**	**1**	**0.31**
19	Bhandara	2	0	0	0.00	0	0	0.00	0	0	0.00	5	5	2.50	0	0	0
20	Chandrapur	3.48	0	0	0.00	0	0	0.00	0	0	0.00	13	13	3.74	0	0	0
21	Nagpur Rural	3.92	0	0	0.00	2	2	0.51	1	1	0.26	6	6	1.53	0	0	0
22	Wardha	1.89	0	0	0.00	0	0	0.00	0	0	0.00	7	7	3.70	0	0	0
*	**Nagpur Range**	**11.29**	**0**	**0**	**0.00**	**2**	**2**	**0.5102**	**1**	**1**	**0.26**	**31**	**31**	**11.47**	**0**	**0**	**0**
23	Gadchiroli	1.21	0	0	0.00	0	0	0.00	0	0	0.00	3	3	2.48	0	0	0
24	Gondia	1.76	0	0	0.00	2	2	1.14	2	2	1.14	2	2	1.14	0	0	0
*	**Gadchiroli Range**	**2.97**	**0**	**0**	**0.00**	**2**	**2**	**1.14**	**2**	**2**	**1.14**	**5**	**5**	**3.62**	**0**	**0**	**0**
25	Ahmednagar	5.74	0	0	0.00	4	4	0.70	1	2	0.17	11	11	1.92	0	0	0
26	Dhule	1.28	0	0	0.00	0	0	0.00	4	4	3.13	2	2	1.56	0	0	0
27	Jalgaon	3.89	0	0	0.00	1	2	0.26	2	3	0.51	5	5	1.29	0	0	0
28	Nasik Rural	3.2	0	0	0.00	3	5	0.94	3	5	0.94	7	7	2.19	0	0	0
29	Nandurbar	0.48	0	0	0.00	0	0	0.00	0	0	0.00	0	0	0.00	0	0	0
*	**Nasik Range**	**14.59**	**0**	**0**	**4.00**	**8**	**11**	**1.89**	**10**	**14**	**4.75**	**25**	**25**	**6.95**	**0**	**0**	**0**
30	Raigad	1.28	0	0	0.00	0	0	0.00	0	0	0.00	3	3	2.34	0	0	0
31	Ratnagiri	0.67	2	2	2.99	0	0	0.00	0	0	0.00	1	1	1.49	0	0	0.00
32	Sindhudurg	0.56	0	0	0.00	0	0	0.00	0	0	0.00	1	1	1.79	0	0	0
33	Thane Rural	1.26	0	0	0.00	0	0	0.00	0	0	0.00	2	2	1.59	0	0	0
34	Palghar	0.87	0	0	0.00	0	0	0.00	0	0	0.00	2	2	2.30	0	0	0
*	**Thane Range**	**4.64**	**2**	**2**	**2.99**	**0**	**0**	**0.00**	**0**	**0**	**0.00**	**9**	**9**	**9.51**	**0**	**0**	**0**
35	Mumbai Railway		0	0	0.00	0	0	0.00	0	0	0.00	0	0	0.00	0	0	0.00
36	Pune Railway		0	0	0.00	0	0	0.00	0	0	0.00	0	0	0.00	0	0	0.00
37	Nagpur Railway		0	0	0.00	0	0	0.00	0	0	0.00	0	0	0.00	0	0	0.00
*	**Railway Range**		**0**	**0**	**0.00**	**0**	**0**	**0.00**	**0**	**0**	**0.00**	**0**	**0**	**0.00**	**0**	**0**	**0.00**
38	Nagpur Commr.	4.75	0	0	0.00	0	0	0.00	0	0	0.00	8	8	1.68	0	0	0
39	Pune Commr.	7.2	0	0	0.00	1	1	0.14	2	2	0.28	7	10	0.97	0	0	0
40	Thane Commr.	4.17	0	0	0.00	1	1	0.24	0	0	0.00	2	2	0.48	0	0	0
41	Mumbai Commr.	8.03	1	1	0.12	0	0	0.00	0	0	0.00	2	2	0.25	0	0	0
42	Nasik Commr.	2.35	0	0	0.00	0	0	0.00	0	0	0.00	0	0	0.00	0	0	0
43	Aurangabad Commr.	2.31	0	0	0.00	1	1	0.43	1	1	0.43	6	6	2.60	0	0	0
44	Solapur Commr.	1.38	0	0	0.00	0	0	0.00	1	1	0.72	2	2	1.45	0	0	0
45	Navi Mumbai	1.07	0	0	0.00	0	0	0.00	0	0	0.00	2	2	1.87	0	0	0
46	Amravati Commr.	1.12	0	0	0.00	1	1	0.89	0	0	0.00	2	2	1.79	0	0	0
*	**Total Commrs.**	**32.38**	**1**	**1**	**0.12**	**4**	**4**	**1.70**	**4**	**4**	**1.44**	**31**	**34**	**11.09**	**0**	**0**	**0.00**
*	**Total**	**132.76**	**9**	**9**	**0.25**	**42**	**45**	**12.307**	**46**	**63**	**17.12**	**238**	**242**	**80.41**	**1**	**1**	**0.31**

तक्ता क्र. ३२ (चालू)

सन २०१५ मध्ये महाराष्ट्र राज्यात अनुसूचित जाती संबंधित ज्यात अनुसूचित जातीचे सदस्य बळी आहेत असे दाखल झालेले गुन्हे व टक्केवारी

Table No. 32 (Continued)

Incidences & Percentage Of Crimes Commited Against Scheduled Castes (In Which Member Of S.C.'S Is Victim) In Maharashtra Durin 2015

Sr. No.	UNIT	SC/ST(Prevention of Atrocities) Act																	
		Assault on SC women to outrage her Modesty (Section 354 IPC) (Total)			Sexual Harassment (Section 354A IPC)			Assault or use of criminal force to women with intent to Disrobe (Section 354B IPC)			Voyeurism (Section 354C IPC)			Stalking (Section 354D IPC)			Others		
		I	V	R	I	V	R	I	V	R	I	V	R	I	V	R	I	V	R
1	2	19	20	21	22	23	24	25	26	27	28	29	30	31	32	33	34	35	36
1	Akola	10	10	2.75	4	4	1.10	1	1	0.27	0	0	0.00	1	1	0.27	4	4	1.10
2	Amravati Rural	20	20	5.06	7	7	1.77	2	2	0.51	4	4	1.01	3	3	4.00	4	4	1.01
3	Buldhana	15	17	3.18	13	13	2.76	1	1	0.21	0	0	0.00	0	0	0.00	1	3	0.21
4	Yavatmal	20	20	6.08	8	8	2.43	1	1	0.30	0	0	0.00	2	2	0.61	9	9	2.74
5	Washim	15	15	6.55	15	15	6.55	0	0	0.00	0	0	0.00	0	0	0.00	0	0	0.00
*	**Amravati Range**	**80**	**82**	**23.62**	**47**	**47**	**14.61**	**5**	**5**	**1.30**	**4**	**4**	**1.013**	**6**	**6**	**4.88**	**18**	**20**	**5.06**
6	Aurangabad Rural	7	7	2.27	3	3	0.97	0	0	0.00	0	0	0.00	0	0	0.00	4	4	1.29
7	Jalna	10	10	3.68	0	0	0.00	0	0	0.00	0	0	0.00	0	0	0.00	10	10	3.68
8	Beed	19	19	5.41	11	11	3.13	1	1	0.28	0	0	0.00	4	4	1.14	3	3	0.85
9	Osmanabad	8	8	3.02	5	5	1.89	1	1	0.38	1	1	0.38	0	0	0.00	1	1	0.38
*	**Aurangabad Range**	**44**	**44**	**14.37**	**19**	**19**	**5.99**	**2**	**2**	**0.66**	**1**	**1**	**0.377**	**4**	**4**	**1.14**	**18**	**18**	**6.20**
10	Nanded	5	5	0.78	5	5	0.78	0	0	0.00	0	0	0.00	0	0	0.00	0	0	0.00
11	Latur	14	14	2.91	0	0	0.00	0	0	0.00	0	0	0.00	0	0	0.00	14	14	2.91
12	Parbhani	10	10	4.05	8	8	3.24	1	1	0.40	0	0	0.00	1	1	0.40	0	0	0.00
13	Hingoli	15	15	8.20	9	9	4.92	1	1	0.55	0	0	0.00	1	1	0.55	4	4	2.19
*	**Nanded Range**	**44**	**44**	**15.94**	**22**	**22**	**8.94**	**2**	**2**	**0.95**	**0**	**0**	**0**	**2**	**2**	**0.95**	**18**	**18**	**5.10**
14	Kolhapur	6	7	1.19	5	6	0.99	0	0	0.00	0	0	0.00	0	0	0.00	1	1	0.20
15	Pune Rural	23	23	5.00	6	6	1.30	2	2	0.43	0	0	0.00	1	1	0.22	14	14	3.04
16	Sangli	7	7	1.98	0	0	0.00	0	0	0.00	0	0	0.00	0	0	0.00	7	7	1.98
17	Satara	14	14	4.33	5	5	1.55	2	2	0.62	0	0	0.00	2	2	0.62	5	5	1.55
18	Solapur Rural	7	7	1.37	3	3	0.59	1	1	0.20	0	0	0.00	0	0	0.00	3	3	0.59
*	**Kolhapur Range**	**57**	**58**	**13.87**	**19**	**20**	**4.43**	**5**	**5**	**1.25**	**0**	**0**	**0**	**3**	**3**	**0.84**	**30**	**30**	**7.36**
19	Bhandara	7	7	3.50	3	3	1.50	0	0	0.00	0	0	0.00	3	3	1.50	1	1	0.50
20	Chandrapur	11	11	3.16	0	0	0.00	0	0	0.00	0	0	0.00	0	0	0.00	11	11	3.16
21	Nagpur Rural	6	6	1.53	2	2	0.51	0	0	0.00	0	0	0.00	1	1	0.26	3	3	0.77
22	Wardha	5	5	2.65	0	0	0.00	0	0	0.00	0	0	0.00	0	0	0.00	5	5	2.65
*	**Nagpur Range**	**29**	**29**	**10.84**	**5**	**5**	**2.01**	**0**	**0**	**0**	**0**	**0**	**0**	**4**	**4**	**1.76**	**20**	**20**	**7.07**
23	Gadchiroli	1	1	0.83	0	0	0.00	0	0	0.00	0	0	0.00	0	0	0.00	1	1	0.83
24	Gondia	9	9	5.11	9	9	5.11	0	0	0.00	0	0	0.00	0	0	0.00	0	0	0.00
*	**Gadchiroli Range**	**10**	**10**	**5.94**	**9**	**9**	**5.11**	**0**	**0**	**0.00**	**0**	**0**	**0.00**	**0**	**0**	**0.00**	**1**	**1**	**0.83**
25	Ahmednagar	23	23	4.01	0	0	0.00	0	0	0.00	0	0	0.00	0	0	0.00	23	23	4.01
26	Dhule	7	7	5.47	0	0	0.00	0	0	0.00	0	0	0.00	0	0	0.00	7	7	5.47
27	Jalgaon	10	11	2.57	10	11	2.57	0	0	0.00	0	0	0.00	0	0	0.00	0	0	0.00
28	Nasik Rural	7	10	2.19	7	10	2.19	0	0	0.00	0	0	0.00	0	0	0.00	0	0	0.00
29	Nandurbar	2	2	4.17	1	1	2.08	0	0	0.00	0	0	0.00	0	0	0.00	1	1	2.08
*	**Nasik Range**	**49**	**53**	**18.40**	**18**	**22**	**6.84**	**0**	**0**	**0.00**	**0**	**0**	**0.00**	**0**	**0**	**0.00**	**31**	**31**	**11.56**
30	Raigad	3	3	2.34	2	2	1.56	0	0	0.00	0	0	0.00	0	0	0.00	1	1	0.78
31	Ratnagiri	0	0	0.00	0	0	0.00	0	0	0.00	0	0	0.00	0	0	0.00	0	0	0.00
32	Sindhudurg	0	0	0.00	0	0	0.00	0	0	0.00	0	0	0.00	0	0	0.00	0	0	0.00
33	Thane Rural	2	2	1.59	0	0	0.00	1	0	0.79	0	0	0.00	0	0	0.00	1	1	0.79
34	Palghar	2	2	2.30	0	0	0.00	0	0	0.00	0	0	0.00	0	0	0.00	2	2	2.30
*	**Thane Range**	**7**	**7**	**6.23**	**2**	**2**	**1.56**	**1**	**0**	**0.79**	**0**	**0**	**0.00**	**0**	**0**	**0.00**	**4**	**4**	**3.87**
35	Mumbai Railway	0	0	0.00	0	0	0.00	0	0	0.00	0	0	0.00	0	0	0.00	0	0	0.00
36	Pune Railway	0	0	0.00	0	0	0.00	0	0	0.00	0	0	0.00	0	0	0.00	0	0	0.00
37	Nagpur Railway	0	0	0.00	0	0	0.00	0	0	0.00	0	0	0.00	0	0	0.00	0	0	0.00
*	**Railway Range**	**0**	**0**	**0.00**	**0**	**0**	**0.00**	**0**	**0**	**0.00**	**0**	**0**	**0.00**	**0**	**0**	**0.00**	**0**	**0**	**0.00**
38	Nagpur Commr.	3	3	0.63	3	3	0.63	0	0	0.00	0	0	0.00	0	0	0.00	0	0	0.00
39	Pune Commr.	4	5	0.56	0	0	0.00	0	0	0.00	0	0	0.00	0	0	0.00	4	5	0.56
40	Thane Commr.	1	1	0.24	1	1	0.24	0	0	0.00	0	0	0.00	0	0	0.00	0	0	0.00
41	Mumbai Commr.	7	7	0.87	2	2	0.25	0	0	0.00	0	0	0.00	0	0	0.00	5	5	0.62
42	Nasik Commr.	1	1	0.43	0	0	0.00	0	0	0.00	0	0	0.00	0	0	0.00	1	1	0.43
43	Aurangabad Commr.	0	0	0.00	0	0	0.00	0	0	0.00	0	0	0.00	0	0	0.00	0	0	0.00
44	Solapur Commr.	3	3	2.17	3	3	2.17	0	0	0.00	0	0	0.00	0	0	0.00	0	0	0.00
45	Navi Mumbai	3	3	2.80	0	0	0.00	0	1	0.00	0	0	0.00	0	0	0.00	3	3	2.80
46	Amravati Commr.	11	11	9.82	4	4	3.57	0	0	0.00	0	0	0.00	2	2	1.79	5	5	4.46
*	**Total Commrs.**	**33**	**34**	**17.52**	**13**	**13**	**6.87**	**0**	**1**	**0**	**0**	**0**	**0**	**2**	**2**	**1.79**	**18**	**19**	**8.87**
*	**Total**	**353**	**361**	**126.74**	**154**	**159**	**56.36**	**15**	**15**	**4.95**	**5**	**5**	**1.39**	**21**	**21**	**11.4**	**158**	**161**	**55.92**

तक्ता क्र. ३२ (चालू)

सन २०१५ मध्ये महाराष्ट्र राज्यात अनुसूचित जाती संबंधित ज्यात अनुसूचित जातीचे सदस्य बळी आहेत असे दाखल झालेले गुन्हे व टक्केवारी

Table No. 32 (Continued)

Incidences & Percentage Of Crimes Commited Against Scheduled Castes (In Which Member Of S.C.'S Is Victim) In Maharashtra During 2015

Sr. No.	UNIT	SC/ST(Prevention of Atrocities) Act														
		Insult to Modesty of SC Women(Sec 509 IPC)			Kidnapping & Abduction (Section 363,364,364A, 366 IPC) Total			K & A (Section 363 IPC)			K & A (Section 364 IPC)			K & A for Ransom (Section 364A IPC)		
		I	V	R	I	V	R	I	V	R	I	V	R	I	V	R
1	2	37	38	39	40	41	42	43	44	45	46	47	48	49	50	51
1	Akola	0	0	0.00	0	0	0.00	0	0	0.00	0	0	0.00	0	0	0.00
2	Amravati Rural	0	0	0.00	0	0	0.00	0	0	0.00	0	0	0.00	0	0	0.00
3	Buldhana	0	0	0.00	1	1	0.21	0	0	0.00	0	0	0.00	0	0	0.00
4	Yavatmal	0	0	0.00	1	1	0.30	0	0	0.00	0	0	0.00	0	0	0.00
5	Washim	0	0	0.00	1	1	0.44	0	0	0.00	0	0	0.00	0	0	0.00
*	**Amravati Range**	**0**	**0**	**0.00**	**3**	**3**	**0.95**	**0**	**0**	**0.00**	**0**	**0**	**0.00**	**0**	**0**	**0.00**
6	Aurangabad Rural	0	0	0.00	0	0	0.00	0	0	0.00	0	0	0.00	0	0	0.00
7	Jalna	0	0	0.00	1	1	0.37	1	1	0.37	0	0	0.00	0	0	0.00
8	Beed	0	0	0.00	3	3	0.85	1	1	0.28	0	0	0.00	0	0	0.00
9	Osmanabad	0	0	0.00	0	0	0.00	0	0	0.00	0	0	0.00	0	0	0.00
*	**Aurangabad Range**	**0**	**0**	**0**	**4**	**4**	**1.222348**	**2**	**2**	**0.653**	**0**	**0**	**0**	**0**	**0**	**0**
10	Nanded	0	0	0.00	3	3	0.47	0	0	0.00	0	0	0.00	0	0	0.00
11	Latur	0	0	0.00	3	3	0.62	0	0	0.00	0	0	0.00	0	0	0.00
12	Parbhani	0	0	0.00	0	0	0.00	0	0	0.00	0	0	0.00	0	0	0.00
13	Hingoli	0	0	0.00	0	0	0.00	0	0	0.00	0	0	0.00	0	0	0.00
*	**Nanded Range**	**0**	**0**	**0.00**	**6**	**6**	**1.09**	**0**	**0**	**0.00**	**0**	**0**	**0**	**0**	**0**	**0.00**
14	Kolhapur	0	0	0.00	0	0	0.00	0	0	0.00	0	0	0.00	0	0	0.00
15	Pune Rural	1	1	0.22	4	4	0.87	3	3	0.65	0	0	0.00	1	1	0.22
16	Sangli	0	0	0.00	0	0	0.00	0	0	0.00	0	0	0.00	0	0	0.00
17	Satara	0	0	0.00	3	3	0.93	2	2	0.62	0	0	0.00	0	0	0.00
18	Solapur Rural	0	0	0.00	5	5	0.98	0	0	0.00	0	0	0.00	0	0	0.00
*	**Kolhapur Range**	**1**	**1**	**0.22**	**12**	**12**	**2.77**	**5**	**5**	**1.271**	**0**	**0**	**0.00**	**1**	**1**	**0.22**
19	Bhandara	0	0	0.00	1	1	0.50	0	0	0.00	0	0	0.00	0	0	0.00
20	Chandrapur	0	0	0.00	0	0	0.00	0	0	0.00	0	0	0.00	0	0	0.00
21	Nagpur Rural	0	0	0.00	0	0	0.00	0	0	0.00	0	0	0.00	0	0	0.00
22	Wardha	0	0	0.00	1	1	0.53	0	0	0.00	0	0	0.00	0	0	0.00
*	**Nagpur Range**	**0**	**0**	**0.00**	**2**	**2**	**1.03**	**0**	**0**	**0.00**	**0**	**0**	**0.00**	**0**	**0**	**0.00**
23	Gadchiroli	0	0	0.00	0	0	0.00	0	0	0.00	0	0	0.00	0	0	0.00
24	Gondia	0	0	0.00	0	0	0.00	0	0	0.00	0	0	0.00	0	0	0.00
*	**Gadchiroli Range**	**0**	**0**	**0.00**	**0**	**0**	**0.00**	**0**	**0**	**0.00**	**0**	**0**	**0.00**	**0**	**0**	**0.00**
25	Ahmednagar	0	0	0.00	1	1	0.17	1	1	0.17	0	0	0.00	0	0	0.00
26	Dhule	0	0	0.00	0	0	0.00	0	0	0.00	0	0	0.00	0	0	0.00
27	Jalgaon	0	0	0.00	2	2	0.51	0	0	0.00	0	0	0.00	0	0	0.00
28	Nasik Rural	0	0	0.00	1	1	0.31	0	0	0.00	0	0	0.00	0	0	0.00
29	Nandurbar	0	0	0.00	0	0	0.00	0	0	0.00	0	0	0.00	0	0	0.00
*	**Nasik Range**	**0**	**0**	**0.00**	**4**	**4**	**1.00**	**1**	**1**	**0.17**	**0**	**0**	**0.00**	**0**	**0**	**0.00**
30	Raigad	0	0	0.00	0	0	0.00	0	0	0.00	0	0	0.00	0	0	0.00
31	Ratnagiri	0	0	0.00	0	0	0.00	0	0	0.00	0	0	0.00	0	0	0.00
32	Sindhudurg	0	0	0.00	0	0	0.00	0	0	0.00	0	0	0.00	0	0	0.00
33	Thane Rural	0	0	0.00	1	1	0.79	0	0	0.00	0	0	0.00	0	0	0.00
34	Palghar	0	0	0.00	0	0	0.00	0	0	0.00	0	0	0.00	0	0	0.00
*	**Thane Range**	**0**	**0**	**0.00**	**1**	**1**	**0.79**	**0**	**0**	**0.00**	**0**	**0**	**0.00**	**0**	**0**	**0.00**
35	Mumbai Railway	0	0	0.00	0	0	0.00	0	0	0.00	0	0	0.00	0	0	0.00
36	Pune Railway	0	0	0.00	0	0	0.00	0	0	0.00	0	0	0.00	0	0	0.00
37	Nagpur Railway	0	0	0.00	0	0	0.00	0	0	0.00	0	0	0.00	0	0	0.00
*	**Railway Range**	**0**	**0**	**0.00**	**0**	**0**	**0.00**	**0**	**0**	**0.00**	**0**	**0**	**0.00**	**0**	**0**	**0.00**
38	Nagpur Commr.	0	0	0.00	0	0	0.00	0	0	0.00	0	0	0.00	0	0	0.00
39	Pune Commr.	0	0	0.00	1	1	0.14	1	1	0.14	0	0	0.00	0	0	0.00
40	Thane Commr.	0	0	0.00	0	0	0.00	0	0	0.00	0	0	0.00	0	0	0.00
41	Mumbai Commr.	2	2	0.25	0	0	0.00	0	0	0.00	0	0	0.00	0	0	0.00
42	Nasik Commr.	0	0	0.00	0	0	0.00	0	0	0.00	0	0	0.00	0	0	0.00
43	Aurangabad Commr.	0	0	0.00	1	1	0.43	1	1	0.43	0	0	0.00	0	0	0.00
44	Solapur Commr.	0	0	0.00	0	0	0.00	0	0	0.00	0	0	0.00	0	0	0.00
45	Navi Mumbai	0	0	0.00	0	0	0.00	0	0	0.00	0	0	0.00	0	0	0.00
46	Amravati Commr.	0	0	0.00	0	0	0.00	0	0	0.00	0	0	0.00	0	0	0.00
*	**Total Commrs.**	**2**	**2**	**0.25**	**2**	**2**	**0.57**	**2**	**2**	**0.57**	**0**	**0**	**0.00**	**0**	**0**	**0.00**
*	**Total**	**3**	**3**	**0.47**	**34**	**34**	**9.44**	**10**	**10**	**2.67**	**0**	**0**	**0.00**	**1**	**1**	**0.22**

तक्ता क्र. ३२ (चालू)

सन २०१५ मध्ये महाराष्ट्र राज्यात अनुसूचित जाती संबंधित ज्यात अनुसूचित जातीचे सदस्य बळी आहेत असे दाखल झालेले गुन्हे व टक्केवारी

Table No. 32 (Continued)

Incidences & Percentage Of Crimes Commited Against Scheduled Castes (In Which Member Of S.C.'S Is Victim) In Maharashtra During 2015

Sr. No.	UNIT	SC/ST(Prevention of Atrocities) Act														
		K & A of SC women to compel her for marriage (Sec 366IPC)			Others			Dacoity (Section 395,396 & 398 IPC)			Dacoity with Murder (Section 396 IPC)			Others		
		I	V	R	I	V	R	I	V	R	I	V	R	I	V	R
1	2	52	53	54	55	56	57	58	59	60	61	62	63	64	65	66
1	Akola	0	0	0.00	0	0	0.00	0	0	0.00	0	0	0.00	0	0	0.00
2	Amravati Rural	0	0	0.00	0	0	0.00	0	0	0.00	0	0	0.00	0	0	0.00
3	Buldhana	1	1	0.21	0	0	0.00	0	0	0.00	0	0	0.00	0	0	0.00
4	Yavatmal	1	1	0.30	0	0	0.00	0	0	0.00	0	0	0.00	0	0	0.00
5	Washim	1	1	0.44	0	0	0.00	0	0	0.00	0	0	0.00	0	0	0.00
*	**Amravati Range**	**3**	**3**	**0.95**	**0**	**0**	**0.00**	**0**	**0**	**0.00**	**0**	**0**	**0.00**	**0**	**0**	**0.00**
6	Aurangabad Rural	0	0	0.00	0	0	0.00	2	2	0.65	0	0	0.00	2	2	0.65
7	Jalna	0	0	0.00	0	0	0.00	2	2	0.74	0	0	0.00	2	2	0.74
8	Beed	0	0	0.00	2	2	0.57	1	1	0.28	0	0	0.00	1	1	0.28
9	Osmanabad	0	0	0.00	0	0	0.00	0	0	0.00	0	0	0.00	0	0	0.00
*	**Aurangabad Range**	**0**	**0**	**0.00**	**2**	**2**	**0.57**	**5**	**5**	**1.67**	**0**	**0**	**0**	**5**	**5**	**1.67**
10	Nanded	3	3	0.47	0	0	0.00	1	1	0.16	0	0	0.00	1	1	0.16
11	Latur	3	3	0.62	0	0	0.00	1	1	0.21	0	0	0.00	1	1	0.21
12	Parbhani	0	0	0.00	0	0	0.00	0	0	0.00	0	0	0.00	0	0	0.00
13	Hingoli	0	0	0.00	0	0	0.00	0	0	0.00	0	0	0.00	0	0	0.00
*	**Nanded Range**	**6**	**6**	**1.09**	**0**	**0**	**0.00**	**2**	**2**	**0.36**	**0**	**0**	**0.00**	**2**	**2**	**0.36**
14	Kolhapur	0	0	0.00	0	0	0.00	2	7	0.40	0	0	0.00	2	7	0.40
15	Pune Rural	0	0	0.00	0	0	0.00	2	2	0.43	0	0	0.00	2	2	0.43
16	Sangli	0	0	0.00	0	0	0.00	0	0	0.00	0	0	0.00	0	0	0.00
17	Satara	1	1	0.31	0	0	0.00	3	3	0.93	0	0	0.00	3	3	0.93
18	Solapur Rural	3	3	0.59	2	2	0.39	0	0	0.00	0	0	0.00	0	0	0.00
*	**Kolhapur Range**	**4**	**4**	**0.90**	**2**	**2**	**0.39**	**7**	**12**	**1.76**	**0**	**0**	**0.00**	**7**	**12**	**1.76**
19	Bhandara	1	1	0.50	0	0	0.00	0	0	0.00	0	0	0.00	0	0	0.00
20	Chandrapur	0	0	0.00	0	0	0.00	0	0	0.00	0	0	0.00	0	0	0.00
21	Nagpur Rural	0	0	0.00	0	0	0.00	0	0	0.00	0	0	0.00	0	0	0.00
22	Wardha	1	1	0.53	0	0	0.00	0	0	0.00	0	0	0.00	0	0	0.00
*	**Nagpur Range**	**2**	**2**	**1.03**	**0**	**0**	**0.00**	**0**	**0**	**0.00**	**0**	**0**	**0.00**	**0**	**0**	**0.00**
23	Gadchiroli	0	0	0.00	0	0	0.00	0	0	0.00	0	0	0.00	0	0	0.00
24	Gondia	0	0	0.00	0	0	0.00	0	0	0.00	0	0	0.00	0	0	0.00
*	**Gadchiroli Range**	**0**	**0**	**0.00**	**0**	**0**	**0.00**	**0**	**0**	**0.00**	**0**	**0**	**0.00**	**0**	**0**	**0.00**
25	Ahmednagar	0	0	0.00	0	0	0.00	2	2	0.35	0	0	0.00	2	2	0.35
26	Dhule	0	0	0.00	0	0	0.00	1	1	0.78	0	0	0.00	1	1	0.78
27	Jalgaon	2	2	0.51	0	0	0.00	1	1	0.26	0	0	0.00	1	1	0.26
28	Nasik Rural	1	1	0.31	0	0	0.00	0	0	0.00	0	0	0.00	0	0	0.00
29	Nandurbar	0	0	0.00	0	0	0.00	0	0	0.00	0	0	0.00	0	0	0.00
*	**Nasik Range**	**3**	**3**	**0.83**	**0**	**0**	**0.00**	**4**	**4**	**1.39**	**0**	**0**	**0.00**	**4**	**4**	**1.39**
30	Raigad	0	0	0.00	0	0	0.00	0	0	0.00	0	0	0.00	0	0	0.00
31	Ratnagiri	0	0	0.00	0	0	0.00	0	0	0.00	0	0	0.00	0	0	0.00
32	Sindhudurg	0	0	0.00	0	0	0.00	0	0	0.00	0	0	0.00	0	0	0.00
33	Thane Rural	0	0	0.00	1	1	0.79	0	0	0.00	0	0	0.00	0	0	0.00
34	Palghar	0	0	0.00	0	0	0.00	0	0	0.00	0	0	0.00	0	0	0.00
*	**Thane Range**	**0**	**0**	**0.00**	**1**	**1**	**0.79**	**0**	**0**	**0.00**	**0**	**0**	**0.00**	**0**	**0**	**0.00**
35	Mumbai Railway	0	0	0.00	0	0	0.00	0	0	0.00	0	0	0.00	0	0	0.00
36	Pune Railway	0	0	0.00	0	0	0.00	0	0	0.00	0	0	0.00	0	0	0.00
37	Nagpur Railway	0	0	0.00	0	0	0.00	0	0	0.00	0	0	0.00	0	0	0.00
*	**Railway Range**	**0**	**0**	**0.00**	**0**	**0**	**0.00**	**0**	**0**	**0.00**	**0**	**0**	**0.00**	**0**	**0**	**0.00**
38	Nagpur Commr.	0	0	0.00	0	0	0.00	0	0	0.00	0	0	0.00	0	0	0.00
39	Pune Commr.	0	0	0.00	0	0	0.00	0	0	0.00	0	0	0.00	0	0	0.00
40	Thane Commr.	0	0	0.00	0	0	0.00	0	0	0.00	0	0	0.00	0	0	0.00
41	Mumbai Commr.	0	0	0.00	0	0	0.00	0	0	0.00	0	0	0.00	0	0	0.00
42	Nasik Commr.	0	0	0.00	0	0	0.00	0	0	0.00	0	0	0.00	0	0	0.00
43	Aurangabad Commr.	0	0	0.00	0	0	0.00	0	0	0.00	0	0	0.00	0	0	0.00
44	Solapur Commr.	0	0	0.00	0	0	0.00	1	1	0.72	0	0	0.00	1	1	0.72
45	Navi Mumbai	0	0	0.00	0	0	0.00	0	0	0.00	0	0	0.00	0	0	0.00
46	Amravati Commr.	0	0	0.00	0	0	0.00	0	0	0.00	0	0	0.00	0	0	0.00
*	**Total Commrs.**	**0**	**0**	**0.00**	**0**	**0**	**0.00**	**1**	**1**	**0.72**	**0**	**0**	**0.00**	**1**	**1**	**0.72**
*	**Total**	**18**	**18**	**4.80**	**5**	**5**	**1.75**	**19**	**24**	**5.90**	**0**	**0**	**0**	**19**	**24**	**5.90**

तक्ता क्र. ३२ (चालू)

सन २०१५ मध्ये महाराष्ट्र राज्यात अनुसूचित जाती संबंधित ज्यात अनुसूचित जातीचे सदस्य बळी आहेत असे दाखल झालेले गुन्हे व टक्केवारी

Table No. 32 (Continued)

Incidences & Percentage Of Crimes Commited Against Scheduled Castes (In Which Member Of S.C.'S Is Victim) In Maharashtra During 2015

Sr. No.	UNIT	SC/ST(Prevention of Atrocities) Act														
		Robbery (Section 392 to 394, 397 & 398 IPC)			Arson (Section 435, 436, 438 IPC)			Grievous Hurt (325,326,326A & 326 B IPC)			Grievous Hurt (Section 325 & 326 IPC)			Acid attack (Section 326A IPC)		
		I	V	R	I	V	R	I	V	R	I	V	R	I	V	R
1	2	67	68	69	70	71	72	73	74	75	76	77	78	79	80	81
1	Akola	0	0	0.00	0	0	0.00	0	0	0.00	0	0	0.00	0	0	0.00
2	Amravati Rural	2	2	0.51	1	1	0.25	0	0	0.00	0	0	0.00	0	0	0.00
3	Buldhana	1	1	0.21	0	0	0.00	0	0	0.00	0	0	0.00	0	0	0.00
4	Yavatmal	0	0	0.00	1	1	0.30	0	0	0.00	0	0	0.00	0	0	0.00
5	Washim	0	0	0.00	0	0	0.00	1	1	0.44	1	1	0.44	0	0	0.00
*	**Amravati Range**	**3**	**3**	**0.72**	**2**	**2**	**0.56**	**1**	**1**	**0.44**	**1**	**1**	**0.44**	**0**	**0**	**0.00**
6	Aurangabad Rural	0	0	0.00	0	0	0.00	0	0	0.00	0	0	0.00	0	0	0.00
7	Jalna	2	2	0.74	1	1	0.37	3	3	1.10	3	3	1.10	0	0	0.00
8	Beed	0	0	0.00	2	2	0.57	2	2	0.57	2	2	0.57	0	0	0.00
9	Osmanabad	2	3	0.75	1	5	0.38	1	1	0.38	1	1	0.38	0	0	0.00
*	**Aurangabad Range**	**4**	**5**	**1.49001**	**4**	**8**	**1.3148**	**6**	**6**	**2.05**	**6**	**6**	**2.05**	**0**	**0**	**0.00**
10	Nanded	1	1	0.16	0	0	0.00	0	0	0.00	0	0	0.00	0	0	0.00
11	Latur	1	1	0.21	0	0	0.00	0	0	0.00	0	0	0.00	0	0	0.00
12	Parbhani	0	0	0.00	0	0	0.00	2	2	0.81	2	2	0.81	0	0	0.00
13	Hingoli	0	0	0.00	0	0	0.00	2	2	1.09	2	2	1.09	0	0	0.00
*	**Nanded Range**	**2**	**2**	**0.36**	**0**	**0**	**0.00**	**4**	**4**	**1.90**	**4**	**4**	**1.90**	**0**	**0**	**0.00**
14	Kolhapur	3	5	0.59	0	0	0.00	3	13	0.59	3	13	0.59	0	0	0.00
15	Pune Rural	1	1	0.22	0	0	0.00	3	3	0.65	3	3	0.65	0	0	0.00
16	Sangli	0	0	0.00	2	2	0.57	0	0	0.00	0	0	0.00	0	0	0.00
17	Satara	0	0	0.00	0	0	0.00	2	2	0.62	2	2	0.62	0	0	0.00
18	Solapur Rural	0	0	0.00	0	0	0.00	3	3	0.59	3	3	0.59	0	0	0.00
*	**Kolhapur Range**	**4**	**6**	**0.81**	**2**	**2**	**0.57**	**11**	**21**	**2.45**	**11**	**21**	**2.45**	**0**	**0**	**0.00**
19	Bhandara	0	0	0.00	0	0	0.00	0	0	0.00	0	0	0.00	0	0	0.00
20	Chandrapur	0	0	0.00	0	0	0.00	0	0	0.00	0	0	0.00	0	0	0.00
21	Nagpur Rural	1	1	0.26	0	0	0.00	0	0	0.00	0	0	0.00	0	0	0.00
22	Wardha	0	0	0.00	2	2	1.06	0	0	0.00	0	0	0.00	0	0	0.00
*	**Nagpur Range**	**1**	**1**	**0.26**	**2**	**2**	**1.06**	**0**	**0**	**0.00**	**0**	**0**	**0.00**	**0**	**0**	**0.00**
23	Gadchiroli	0	0	0.00	0	0	0.00	0	0	0.00	0	0	0.00	0	0	0.00
24	Gondia	0	0	0.00	0	0	0.00	0	0	0.00	0	0	0.00	0	0	0.00
*	**Gadchiroli Range**	**0**	**0**	**0.00**	**0**	**0**	**0.00**	**0**	**0**	**0.00**	**0**	**0**	**0.00**	**0**	**0**	**0.00**
25	Ahmednagar	0	0	0.00	1	1	0.17	4	5	0.70	4	5	0.70	0	0	0.00
26	Dhule	1	1	0.78	0	0	0.00	1	1	0.78	1	1	0.78	0	0	0.00
27	Jalgaon	0	0	0.00	0	0	0.00	0	0	0.00	0	0	0.00	0	0	0.00
28	Nasik Rural	0	0	0.00	0	0	0.00	3	4	0.94	3	4	0.94	0	0	0.00
29	Nandurbar	0	0	0.00	0	0	0.00	0	0	0.00	0	0	0.00	0	0	0.00
*	**Nasik Range**	**1**	**1**	**0.78**	**1**	**1**	**0.17**	**8**	**10**	**2.42**	**8**	**10**	**2.42**	**0**	**0**	**0.00**
30	Raigad	0	0	0.00	0	0	0.00	0	0	0.00	0	0	0.00	0	0	0.00
31	Ratnagiri	0	0	0.00	0	0	0.00	1	1	1.49	1	1	1.49	0	0	0.00
32	Sindhudurg	0	0	0.00	0	0	0.00	1	1	1.79	1	1	1.79	0	0	0.00
33	Thane Rural	1	1	0.79	0	0	0.00	2	2	1.59	2	2	1.59	0	0	0.00
34	Palghar	0	0	0.00	0	0	0.00	1	3	1.15	1	3	1.15	0	0	0.00
*	**Thane Range**	**1**	**1**	**0.79**	**0**	**0**	**0.00**	**5**	**7**	**6.01**	**5**	**7**	**6.01**	**0**	**0**	**0.00**
35	Mumbai Railway	0	0	0.00	0	0	0.00	0	0	0.00	0	0	0.00	0	0	0.00
36	Pune Railway	0	0	0.00	0	0	0.00	0	0	0.00	0	0	0.00	0	0	0.00
37	Nagpur Railway	0	0	0.00	0	0	0.00	0	0	0.00	0	0	0.00	0	0	0.00
*	**Railway Range**	**0**	**0**	**0.00**	**0**	**0**	**0.00**	**0**	**0**	**0.00**	**0**	**0**	**0.00**	**0**	**0**	**0.00**
38	Nagpur Commr.	0	0	0.00	0	0	0.00	0	0	0.00	0	0	0.00	0	0	0.00
39	Pune Commr.	1	2	0.14	0	0	0.00	0	0	0.00	0	0	0.00	0	0	0.00
40	Thane Commr.	1	1	0.24	0	0	0.00	0	0	0.00	0	0	0.00	0	0	0.00
41	Mumbai Commr.	0	0	0.00	0	0	0.00	0	0	0.00	0	0	0.00	0	0	0.00
42	Nasik Commr.	0	0	0.00	0	0	0.00	0	0	0.00	0	0	0.00	0	0	0.00
43	Aurangabad Commr.	1	1	0.43	0	0	0.00	0	0	0.00	0	0	0.00	0	0	0.00
44	Solapur Commr.	0	0	0.00	0	0	0.00	0	0	0.00	0	0	0.00	0	0	0.00
45	Navi Mumbai	0	0	0.00	0	0	0.00	0	0	0.00	0	0	0.00	0	0	0.00
46	Amravati Commr.	0	0	0.00	0	0	0.00	0	0	0.00	0	0	0.00	0	0	0.00
*	**Total Commrs.**	**3**	**4**	**0.81**	**0**	**0**	**0.00**	**0**	**0**	**0.00**	**0**	**0**	**0.00**	**0**	**0**	**0.00**
*	**Total**	**19**	**23**	**6.03**	**11**	**15**	**3.67**	**35**	**49**	**15.27**	**35**	**49**	**15.27**	**0**	**0**	**0.00**

तक्ता क्र. ३२ (चालू)

सन २०१५ मध्ये महाराष्ट्र राज्यात अनुसूचित जाती संबंधित ज्यात अनुसूचित जातीचे सदस्य बळी आहेत असे दाखल झालेले गुन्हे व टक्केवारी

Table No. 32 (Continued)

Incidences & Percentage Of Crimes Commited Against Scheduled Castes (In Which Member Of S.C.'S Is Victim) In Maharashtra During 2015

Sr. No.	UNIT	SC/ST(Prevention of Atrocities) Act												Total of SC/ST (Prevention of Atrocities) Act (Sum of previous columns excluding sub heads)		
		Attemp to Acid Attack(Sec 326B IPC)			Riots (Sections 147, 148, 149, 150 & 151 IPC)			Other IPC crimes			SC / ST (Prevention of Atrocities) Act only					
		I	V	R	I	V	R	I	V	R	I	V	R	I	V	R
1	2	82	83	84	85	86	87	88	89	90	91	92	93	94	95	96
1	Akola	0	0	0.00	1	3	0.27	4	5	1.10	1	13	0.27	21	36	5.77
2	Amravati Rural	0	0	0.00	2	2	0.51	8	8	2.03	9	9	2.28	56	57	14.18
3	Buldhana	0	0	0.00	8	8	1.70	8	8	1.70	5	5	1.06	48	50	10.19
4	Yavatmal	0	0	0.00	3	3	0.91	20	20	6.08	8	8	2.43	64	64	19.45
5	Washim	0	0	0.00	7	7	3.06	10	10	4.37	9	9	3.93	54	54	23.58
*	**Amravati Range**	**0**	**0**	**0.00**	**21**	**23**	**6.45**	**50**	**51**	**15.27**	**32**	**44**	**9.98**	**243**	**261**	**73.17**
6	Aurangabad Rural	0	0	0.00	12	12	3.88	11	11	3.56	9	9	2.91	48	48	15.53
7	Jalna	0	0	0.00	2	3	0.74	31	37	11.40	0	0	0.00	57	64	20.96
8	Beed	0	0	0.00	18	19	5.13	34	34	9.69	1	1	0.28	91	92	25.93
9	Osmanabad	0	0	0.00	8	13	3.02	4	4	1.51	11	11	4.15	44	61	16.60
*	**Aurangabad Range**	**0**	**0**	**0.00**	**40**	**47**	**12.77**	**80**	**86**	**26.15**	**21**	**21**	**7.35**	**240**	**265**	**79.02**
10	Nanded	0	0	0.00	17	38	2.66	9	12	1.41	6	6	0.94	56	82	8.75
11	Latur	0	0	0.00	17	17	3.53	11	11	2.29	12	12	2.49	70	70	14.55
12	Parbhani	0	0	0.00	11	11	4.45	22	22	8.91	33	33	13.36	87	87	35.22
13	Hingoli	0	0	0.00	10	10	5.46	32	32	17.49	0	0	0.00	67	67	36.61
*	**Nanded Range**	**0**	**0**	**0.00**	**55**	**76**	**16.11**	**74**	**77**	**30.09**	**51**	**51**	**16.79**	**280**	**306**	**95.14**
14	Kolhapur	0	0	0.00	14	32	2.77	19	22	3.76	4	4	0.79	58	100	11.49
15	Pune Rural	0	0	0.00	15	15	3.26	35	39	7.61	2	3	0.43	102	108	22.17
16	Sangli	0	0	0.00	6	6	1.70	7	7	1.98	22	25	6.23	53	56	15.01
17	Satara	0	0	0.00	21	41	6.50	15	15	4.64	36	39	11.15	111	134	34.37
18	Solapur Rural	0	0	0.00	19	19	3.71	13	13	2.54	13	13	2.54	79	79	15.43
*	**Kolhapur Range**	**0**	**0**	**0.00**	**75**	**113**	**17.95**	**89**	**96**	**20.54**	**77**	**84**	**21.14**	**403**	**477**	**98.47**
19	Bhandara	0	0	0.00	1	2	0.50	4	5	2.00	1	1	0.50	19	21	9.50
20	Chandrapur	0	0	0.00	2	2	0.57	9	9	2.59	4	4	1.15	39	39	11.21
21	Nagpur Rural	0	0	0.00	0	0	0.00	8	8	2.04	0	0	0.00	24	24	6.12
22	Wardha	0	0	0.00	1	1	0.53	2	2	1.06	9	9	4.76	27	27	14.29
*	**Nagpur Range**	**0**	**0**	**0.00**	**4**	**5**	**1.60**	**23**	**24**	**7.69**	**14**	**14**	**6.41**	**109**	**111**	**41.12**
23	Gadchiroli	0	0	0.00	1	1	0.83	3	3	2.48	1	1	0.83	9	9	7.44
24	Gondia	0	0	0.00	0	0	0.00	4	4	2.27	2	2	1.14	21	21	11.93
*	**Gadchiroli Range**	**0**	**0**	**0.00**	**1**	**1**	**0.83**	**7**	**7**	**4.75**	**3**	**3**	**1.96**	**30**	**30**	**19.37**
25	Ahmednagar	0	0	0.00	18	36	3.14	25	25	4.36	6	6	1.05	96	116	16.72
26	Dhule	0	0	0.00	6	6	4.69	6	6	4.69	6	6	4.69	34	34	26.56
27	Jalgaon	0	0	0.00	10	14	2.57	11	12	2.83	12	15	3.08	54	65	13.88
28	Nasik Rural	0	0	0.00	8	12	2.50	6	15	1.88	8	8	2.50	46	67	14.38
29	Nandurbar	0	0	0.00	2	2	4.17	0	0	0.00	2	2	4.17	6	6	12.50
*	**Nasik Range**	**0**	**0**	**0.00**	**44**	**70**	**17.06**	**48**	**58**	**13.75**	**34**	**37**	**15.48**	**236**	**288**	**84.04**
30	Raigad	0	0	0.00	6	6	4.69	6	6	4.69	3	3	2.34	21	21	16.41
31	Ratnagiri	0	0	0.00	4	4	5.97	2	2	2.99	3	3	4.48	11	11	16.42
32	Sindhudurg	0	0	0.00	1	1	1.79	0	0	0.00	7	7	12.50	10	10	17.86
33	Thane Rural	0	0	0.00	4	4	3.17	5	5	3.97	1	3	0.79	18	20	14.29
34	Palghar	0	0	0.00	0	0	0.00	5	6	5.75	1	1	1.15	11	14	12.64
*	**Thane Range**	**0**	**0**	**0.00**	**15**	**15**	**15.62**	**18**	**19**	**17.39**	**15**	**17**	**21.26**	**71**	**76**	**77.61**
35	Mumbai Railway	0	0	0.00	0	0	0.00	0	0	0.00	1	1	0.00	1	1	0.00
36	Pune Railway	0	0	0.00	0	0	0.00	0	0	0.00	0	0	0.00	0	0	0.00
37	Nagpur Railway	0	0	0.00	0	0	0.00	0	0	0.00	0	0	0.00	0	0	0.00
*	**Railway Range**	**0**	**0**	**0.00**	**0**	**0**	**0.00**	**0**	**0**	**0.00**	**1**	**1**	**0.00**	**1**	**1**	**0.00**
38	Nagpur Commr.	0	0	0.00	3	3	0.63	8	8	1.68	5	5	1.05	27	27	5.68
39	Pune Commr.	0	0	0.00	0	0	0.00	0	0	0.00	3	3	0.42	19	24	2.64
40	Thane Commr.	0	0	0.00	3	3	0.72	6	6	1.44	13	13	3.12	27	27	6.47
41	Mumbai Commr.	0	0	0.00	2	2	0.25	17	17	2.12	3	3	0.37	33	33	4.11
42	Nasik Commr.	0	0	0.00	2	2	0.85	1	1	0.43	1	1	0.43	5	5	2.13
43	Aurangabad Commr.	0	0	0.00	2	2	0.87	3	3	1.30	7	7	3.03	22	22	9.52
44	Solapur Commr.	0	0	0.00	1	1	0.72	2	2	1.45	2	2	1.45	12	12	8.70
45	Navi Mumbai	0	0	0.00	1	1	0.93	2	2	1.87	3	3	2.80	11	11	10.28
46	Amravati Commr.	0	0	0.00	1	1	6.00	6	6	5.36	5	5	4.46	26	26	23.21
*	**Total Commrs.**	**0**	**0**	**0.00**	**15**	**15**	**10.98**	**45**	**45**	**15.64**	**42**	**42**	**17.13**	**182**	**187**	**72.75**
*	**Total**	**0**	**0**	**0.00**	**270**	**365**	**99.35**	**434**	**463**	**151.26**	**290**	**314**	**117.52**	**1795**	**2002**	**640.69**

तक्ता क्र. ३२ (पूर्ण)

सन २०१५ मध्ये महाराष्ट्र राज्यात अनुसूचित जाती संबंधित ज्यात अनुसूचित जातीचे सदस्य बळी आहेत असे दाखल झालेले गुन्हे व टक्केवारी

Table No. 32 (Concluded)

Incidences & Percentage Of Crimes Commited Against Scheduled Castes (In Which Member Of S.C.'S Is Victim) In Maharashtra During 2015

Sr. No.	UNIT	IPC Crimes Committed Against SCs (in which SC/ST POA Act not applied)			The Employment of Manual Scavengers (P) Act			Other SLL Crimes Against SCs			Total Crimes Against SCs		
		I	V	R	I	V	R	I	V	R	I	V	R
1	2	97	98	99	100	101	102	103	104	105	106	107	108
1	Akola	0	0	0.00	0	0	0.00	0	0	0.00	21	36	5.77
2	Amravati Rural	0	0	0.00	0	0	0.00	0	0	0.00	56	57	14.18
3	Buldhana	0	0	0.00	0	0	0.00	0	0	0.00	48	50	10.19
4	Yavatmal	0	0	0.00	0	0	0.00	0	0	0.00	64	64	19.45
5	Washim	0	0	0.00	0	0	0.00	0	0	0.00	54	54	23.58
*	**Amravati Range**	**0**	**0**	**0.00**	**0**	**0**	**0.00**	**0**	**0**	**0**	**243**	**261**	**73.17**
6	Aurangabad Rural	0	0	0.00	0	0	0.00	0	0	0.00	48	48	15.53
7	Jalna	0	0	0.00	0	0	0.00	0	0	0.00	57	64	20.96
8	Beed	0	0	0.00	0	0	0.00	0	0	0.00	91	92	25.93
9	Osmanabad	0	0	0.00	0	0	0.00	11	11	4.15	55	72	20.75
*	**Aurangabad Range**	**0**	**0**	**0.00**	**0**	**0**	**0.00**	**11**	**11**	**4.15**	**251**	**276**	**83.17**
10	Nanded	0	0	0.00	0	0	0.00	0	0	0.00	56	82	8.75
11	Latur	0	0	0.00	0	0	0.00	0	0	0.00	70	70	14.55
12	Parbhani	0	0	0.00	0	0	0.00	0	0	0.00	87	87	35.22
13	Hingoli	0	0	0.00	0	0	0.00	0	0	0.00	67	67	36.61
*	**Nanded Range**	**0**	**0**	**0.00**	**0**	**0**	**0.00**	**0**	**0**	**0.00**	**280**	**306**	**95.14**
14	Kolhapur	0	0	0.00	0	0	0.00	0	0	0.00	62	104	12.28
15	Pune Rural	0	0	0.00	0	0	0.00	0	0	0.00	104	110	22.61
16	Sangli	0	0	0.00	0	0	0.00	0	0	0.00	53	56	15.01
17	Satara	0	0	0.00	0	0	0.00	0	0	0.00	111	134	34.37
18	Solapur Rural	0	0	0.00	0	0	0.00	0	0	0.00	79	79	15.43
*	**Kolhapur Range**	**0**	**0**	**0.00**	**0**	**0**	**0.00**	**0**	**0**	**0.00**	**409**	**483**	**99.70**
19	Bhandara	0	0	0.00	0	0	0.00	0	0	0.00	19	21	9.50
20	Chandrapur	0	0	0.00	0	0	0.00	0	0	0.00	39	39	11.21
21	Nagpur Rural	0	0	0.00	0	0	0.00	0	0	0.00	24	24	6.12
22	Wardha	0	0	0.00	0	0	0.00	0	0	0.00	27	27	14.29
*	**Nagpur Range**	**0**	**0**	**0.00**	**0**	**0**	**0.00**	**0**	**0**	**0.00**	**109**	**111**	**41.12**
23	Gadchiroli	0	0	0.00	0	0	0.00	0	0	0.00	9	9	7.44
24	Gondia	0	0	0.00	0	0	0.00	0	0	0.00	21	21	11.93
*	**Gadchiroli Range**	**0**	**0**	**0.00**	**0**	**0**	**0.00**	**0**	**0**	**0.00**	**30**	**30**	**19.37**
25	Ahmednagar	0	0	0.00	0	0	0.00	0	0	0.00	96	116	16.72
26	Dhule	0	0	0.00	0	0	0.00	0	0	0.00	34	34	26.56
27	Jalgaon	0	0	0.00	0	0	0.00	0	0	0.00	54	65	13.88
28	Nasik Rural	0	0	0.00	0	0	0.00	0	0	0.00	46	67	14.38
29	Nandurbar	0	0	0.00	0	0	0.00	0	0	0.00	6	6	12.50
*	**Nasik Range**	**0**	**0**	**0.00**	**0**	**0**	**0.00**	**0**	**0**	**0.00**	**236**	**288**	**84.04**
30	Raigad	0	0	0.00	0	0	0.00	0	0	0.00	21	21	16.41
31	Ratnagiri	0	0	0.00	0	0	0.00	0	0	0.00	13	13	19.40
32	Sindhudurg	0	0	0.00	0	0	0.00	0	0	0.00	10	10	17.86
33	Thane Rural	0	0	0.00	0	0	0.00	0	0	0.00	18	20	14.29
34	Palghar	0	0	0.00	0	0	0.00	0	0	0.00	11	14	12.64
*	**Thane Range**	**0**	**0**	**0.00**	**0**	**0**	**0.00**	**0**	**0**	**0.00**	**73**	**78**	**80.60**
35	Mumbai Railway	0	0	0.00	0	0	0.00	0	0	0.00	1	1	0.00
36	Pune Railway	0	0	0.00	0	0	0.00	0	0	0.00	0	0	0.00
37	Nagpur Railway	0	0	0.00	0	0	0.00	0	0	0.00	0	0	0.00
*	**Railway Range**	**0**	**0**	**0.00**	**0**	**0**	**0.00**	**0**	**0**	**0.00**	**1**	**1**	**0.00**
38	Nagpur Commr.	0	0	0.00	0	0	0.00	0	0	0.00	27	27	5.68
39	Pune Commr.	0	0	0.00	0	0	0.00	0	0	0.00	19	24	2.64
40	Thane Commr.	0	0	0.00	0	0	0.00	0	0	0.00	27	27	6.47
41	Mumbai Commr.	0	0	0.00	0	0	0.00	0	0	0.00	34	34	4.23
42	Nasik Commr.	0	0	0.00	0	0	0.00	1	1	0.43	6	6	2.55
43	Aurangabad Commr.	0	0	0.00	0	0	0.00	0	0	0.00	22	22	9.52
44	Solapur Commr.	0	0	0.00	0	0	0.00	0	0	0.00	12	12	8.70
45	Navi Mumbai	0	0	0.00	0	0	0.00	0	0	0.00	11	11	10.28
46	Amravati Commr.	0	0	0.00	0	0	0.00	0	0	0.00	26	26	23.21
*	**Total Commrs.**	**0**	**0**	**0.00**	**0**	**0**	**0.00**	**1**	**1**	**0.43**	**184**	**189**	**73.30**
*	**Total**	**0**	**0**	**0.00**	**0**	**0**	**0.00**	**12**	**12**	**4.58**	**1816**	**2023**	**3.00**

तक्ता क्र. - ३२ अ - १

सन २०१५ मध्ये महाराष्ट्र राज्यात अनुसूचित जाती संबंधित दाखल झालेल्या गुन्हयांची (शिर्ष- निहाय) पोलीसाकडून निर्गती

Table -32 A - 1

Disposal of Cases by Police For Crimes Committed Against Scheduled Castes (Crime Head-wise) During 2015

Sr. No	Crime Head	Cases pending investigation from previous year	Cases reported during the year (156(3) Cr.P.C. + Police Stations)	No. of cases withdrawn by the Govt. during investigation	Cases transferred to other Police Station/ Magistrate	Total Cases for investigation (Col. 3+4 - 5 – 6)	Cases not investigated U/S 157(1)(b) of Cr.PC	Cases ended as final report false	Cases ended as mistake of fact or of law
1	**2**	**3**	**4**	**5**	**6**	**7**	**8**	**9**	**10**
1	Protection of Civil Rights Act, 1955	7	9	0	0	16	0	0	0
2	SC/ST (Prevention of Atrocitites) Act					0			
2.1	Murder	10	42	0	0	52	0	1	0
2.2	Attempt to commit Murder	18	46	0	0	64	0	4	0
2.3	Rape	49	238	0	0	287	0	5	1
2.4	Attempt to commit Rape	0	1	0	0	1	0	0	0
2.5	Assault on women with intent to outrage her Modesty	93	353	1	0	445	0	13	3
2.5.1	Sexual Harassment	48	154	1	0	201	0	7	1
2.5.2	Assault on women with intent to Disrobe	3	15	0	0	18	0	0	0
2.5.3	Voyeurism	1	5	0	0	6	0	0	0
2.5.4	Stalking	1	21	0	0	22	0	0	1
2.5.5	Other Sexual Harassment	40	158	0	0	198	0	6	1
2.6	Insult to the Modesty of women	2	3	0	0	5	0	0	0
2.7	Kidnapping & Abduction	13	34	0	0	47	1	2	5
2.7.1	Kidnaping & Abduction	7	10	0	0	17	0	0	3
2.7.2	Kidnaping & Abduction in order to Murder	0	0	0	0	0	0	0	0
2.7.3	Kidnapping for Ransom	0	1	0	0	1	0	0	0
2.7.4	Kidnapping & Abduction of Women to compel her for marriage	5	18	0	0	23	0	2	1
2.7.5	Other Kidnapping	1	5	0	0	6	1	0	1
2.8	Dacoity	7	19	0	0	26	1	1	1
2.8.1	Dacoity with Murder	0	0	0	0	0	0	0	0
2.8.2	Other Dacoity	7	19	0	0	26	1	1	1
2.9	Robbery	10	19	0	0	29	0	2	0
2.1	Arson	4	11	0	0	15	0	0	0
2.11	Grievous Hurt	29	35	0	0	64	0	0	0
2.11.1	Hurt	29	35	0	0	64	0	0	0
2.11.2	Acid attack	0	0	0	0	0	0	0	0
2.11.3	Attempt to Acid Attack	0	0	0	0	0	0	0	0
2.12	Riots	69	270	1	0	338	1	16	4
2.13	Other IPC crimes	224	434	2	0	656	1	35	15
2.14	SC / ST (Prevention of Atrocities) Act only	143	290	0	1	432	0	42	9
	Total of SC/ST (Prevention of Atrocities) Act	**671**	**1795**	**4**	**1**	2461	**4**	**121**	**38**
3	IPC Crime in which SC/ST (POA) Act is not applied	0	0	0	0	0	0	0	0
4	Manual Scavengers and Construction of Dry Latrines (P) Act, 1993	0	0	0	0	0	0	0	0
5	**Other SLL Crime against SCs**	**0**	**12**	**0**	**0**	12	**0**	**1**	**0**
	Total Crimes against SCs	**678**	**1816**	**4**	**1**	**2489**	**4**	**122**	**38**

तक्ता क्र. ३२ अ - २ (चालू)

सन २०१५ मध्ये महाराष्ट्र राज्यात अनुसूचित जाती संबंधित दाखल झालेल्या गुन्हयांची (शिर्ष- निहाय) पोलीसाकडून निर्गती

Table No. 32 A - 2 (Contd.)

Disposal of Cases by Police For Crimes Committed Against Scheduled Castes (Crime Head-wise) During 2015

Sr.No	Crime Head	Cases in ended as final report as Non Cognizable Submitted	Cases in which charge-sheets were submitted	Cases charge-sheets not laid but FR True submitted	Total cases Disposed off by police	Cases pending investigation at the end of the year	Charge-sheeting Rate Col.12/ (Col.12+13)*100	Cases Pendency Rate {Col.15 / (3+4) x 100
1	2	11	12	13	14	15	16	17
1	Protection of Civil Rights Act, 1955	1	5	0	6	10	100.0	62.5
2	**SC/ST (Prevention of Atrocitites) Act**							
2.1	Murder	1	35	0	37	15	100.0	28.8
2.2	Attempt to commit Murder	0	39	0	43	21	100.0	32.8
2.3	Rape	0	211	0	217	70	100.0	24.4
2.4	Attempt to commit Rape	0	1	0	1	0	100.0	0.0
2.5	Assault on women with intent to outrage her Modesty	9	306	0	331	114	100.0	25.6
2.5.1	Sexual Harassment	5	135	0	148	53	100.0	26.2
2.5.2	Assault on women with intent to Disrobe	0	13	0	13	5	100.0	27.8
2.5.3	Voyeurism	0	4	0	4	2	100.0	33.3
2.5.4	Stalking	0	17	0	18	4	100.0	18.2
2.5.5	Other Sexual Harassment	4	137	0	148	50	100.0	25.3
2.6	Insult to the Modesty of women	0	3	0	3	2	100.0	40.0
2.7	Kidnapping & Abduction	1	25	0	33	13	100.0	27.7
2.7.1	Kidnaping & Abduction	0	11	0	14	3	100.0	17.6
2.7.2	Kidnaping & Abduction in order to Murder	0	0	0	0	0	0.0	0.0
2.7.3	Kidnapping for Ransom	0	0	0	0	1	0.0	100.0
2.7.4	Kidnapping & Abduction of Women to compel her for marriage	0	14	0	17	6	100.0	26.1
2.7.5	Other Kidnapping	1	0	0	2	3	0.0	50.0
2.8	Dacoity	1	12	0	15	10	100.0	38.5
2.8.1	Dacoity with Murder	0	0	0	0	0	0.0	0.0
2.8.2	Other Dacoity	1	12	0	15	10	100.0	38.5
2.9	Robbery	2	14	1	19	10	93.3	34.5
2.1	Arson	0	10	1	11	4	90.9	26.7
2.11	Grievous Hurt	0	28	0	28	36	100.0	56.3
2.11.1	Hurt	0	28	0	28	36	100.0	56.3
2.11.2	Acid attack	0	0	0	0	0	0.0	0.0
2.11.3	Attempt to Acid Attack	0	0	0	0	0	0.0	0.0
2.12	Riots	11	189	3	223	114	98.4	33.6
2.13	Other IPC crimes	21	311	29	411	244	91.5	37.1
2.14	SC / ST (Prevention of Atrocities) Act only	23	192	3	269	163	98.5	37.6
	Total of SC/ST (Prevention of Atrocities) Act	70	1381	37	1647	826	97.4	33.5
3	**IPC Crime in which SC/ST (POA) Act is not applied**	0	0	0	0	0	0.0	0.0
4	Manual Scavengers and Construction of Dry Latrines (P) Act, 1993	0	0	0	0	0	0.0	0.0
5	Other SLL Crime against SCs	1	8	0	10	2	100.0	16.7
	Total Crimes against SCs	**71**	**1389**	**37**	**1657**	**828**	**97.4**	**33.2**

तक्ता ३२ ब

सन २०१५ मध्ये महाराष्ट्र राज्यात अनुसूचित जाती संबंधित दाखल झालेल्या गुन्हयांची (शिर्ष- निहाय) न्यायालयाकडून निर्गती

Table 32 B

Disposal of Cases by Courts For Crimes Committed Against Scheduled Castes During 2015

Sr. No	Crime Head	Cases pending trial from the previous year	Cases sent for trial during the year	No. of cases withdrawn by the Govt.	No. Of cases disposed by Plea Bargaining.	Total no. Of cases for trial during the year	Cases compounded or withdrawn	Cases in which trials were completed	Cases convicted	Cases acquitted or discharged	Cases pending trial at the end of the year	Conviction Rate {(10)/(9) × 100}	Cases Pendency Rate (Col. 12/7)x100
1	2	3	4	5	6	7	8	9	10	11	12	13	14
1	Protection of Civil Rights Act, 1955	300	5	0	0	305	0	19	0	19	286	0.0	93.8
2	**SC/ST (Prevention of Atrocitites) Act**												
2.1	Murder	178	35	0	0	213	0	23	4	19	190	17.4	89.2
2.2	Attempt to commit Murder	104	39	0	0	143	0	16	1	15	127	6.3	88.8
2.3	Rape	646	211	0	0	857	0	77	13	64	780	16.9	91.0
2.4	Attempt to commit Rape	4	1	0	0	5	0	0	0	0	5	0.0	100.0
2.5	Assault on women with intent to outrage her Modesty	646	306	0	0	952	5	96	10	86	851	10.4	89.4
2.5.1	Sexual Harassment	171	135	0	0	306	0	31	2	29	275	6.5	89.9
2.5.2	Assault on women with intent to Disrobe	17	13	0	0	30	0	0	0	0	30	0.0	100.0
2.5.3	Voyeurism	4	4	0	0	8	0	0	0	0	8	0	100.0
2.5.4	Stalking	7	17	0	0	24	0	2	1	1	22	50.0	91.7
2.5.5	Other Sexual Harassment	447	137	0	0	584	5	63	7	56	519	11.1	88.9
2.6	Insult to the Modesty of women	40	3	0	0	43	0	2	0	2	41	0.0	95.3
2.7	Kidnapping & Abduction	117	25	0	0	142	0	8	0	8	134	0.0	94.4
2.7.1	Kidnaping & Abduction	24	11	0	0	35	0	2	0	2	33	0.0	94.3
2.7.2	Kidnaping & Abduction in order to Murder	0	0	0	0	0	0	0	0	0	0	0	0
2.7.3	Kidnapping for Ransom	0	0	0	0	0	0	0	0	0	0	0	0
2.7.4	Kidnapping & Abduction of Women to compel her for marriage	56	14	0	0	70	0	5	0	5	65	0.0	92.9
2.7.5	Other Kidnapping	37	0	0	0	37	0	1	0	1	36	0.0	97.3
2.8	Dacoity	77	12	0	0	89	0	5	0	5	84	0.0	94.4
2.8.1	Dacoity with Murder	0	0	0	0	0	0	0	0	0	0	0	0
2.8.2	Other Dacoity	77	12	0	0	89	0	5	0	5	84	0.0	94.4
2.9	Robbery	65	14	0	0	79	0	6	1	5	73	16.7	92.4
2.1	Arson	71	10	0	0	81	0	7	2	5	74	28.6	91.4
2.11	Grievous Hurt	184	28	0	0	212	0	14	2	12	198	14.3	93.4
2.11.1	Hurt	184	28	0	0	212	0	14	2	12	198	14.3	93.4
2.11.2	Acid attack	0	0	0	0	0	0	0	0	0	0	0.0	0
2.11.3	Attempt to Acid Attack	0	0	0	0	0	0	0	0	0	0	0	0
2.12	Riots	808	189	0	0	997	0	102	5	97	895	4.9	89.8
2.13	Other IPC crimes	2033	311	0	0	2344	4	239	18	221	2101	7.5	89.6
2.14	SC / ST (Prevention of Atrocities) Act only	1597	192	1	0	1788	1	177	8	169	1610	4.5	90.0
	Total of SC/ST (Prevention of Atrocities) Act	6570	1376	1	0	7945	10	772	64	708	7163	8.3	90.2
3	**IPC Crime in which SC/ST (POA) Act is not applied**	0	0	0	0	0	0	0	0	0	0	0	0
4	Manual Scavengers and Construction of Dry Latrines (P) Act, 1993	0	0	0	0	0	0	0	0	0	0	0	0
5	Other SLL Crime against SCs	0	8	0	0	8	0	2	0	2	6	0	0
	Total Crimes against SCs	**6870**	**1389**	**1**	**0**	**8258**	**10**	**793**	**64**	**729**	**7455**	**8.1**	**90.3**

तक्ता क्र. ३३

सन २०१५ मध्ये महाराष्ट्र राज्यात अनुसुचित जमाती संबधित (ज्यात अनुसूचित जमातीचे सदस्य बळी आहेत) असे दाखल झालेले गुन्हे व टक्केवारी

Table No. 33

Incidence & Rate of Crimes Committed Against Scheduled Tribes During 2015

Sr. No	UNIT	Incidence	Percentage Contribution To State Total	Population of STs (In Lakhs) censes 2011	Rate Of Total Cognizable Crimes	Rank on the Basis of Col.6	Rank on the Basis of Col.4
1	2	3	4	5	6	7	8
1	Akola	8	1.7	1.0	8.00	27	20
2	Amravati Rural	27	5.6	3.9	6.96	11	4
3	Buldhana	5	1.0	1.3	4.00	33	29
4	Yavatmal	73	15.1	5.1	14.20	4	1
5	Washim	7	1.4	0.8	8.75	9	24
*	**Amravati Range**	**120**	24.8	12.1	**41.91**		
6	Aurangabad Rural	10	2.1	1.3	7.87	28	16
7	Jalna	8	1.7	0.4	19.05	30	21
8	Beed	9	1.9	0.3	27.27	3	18
9	Osmanabad	7	1.4	0.4	19.44	26	25
*	**Aurangabad Range**	**34**	7.0	2.4	**73.64**		
10	Nanded	19	3.9	2.8	6.74	21	9
11	Latur	0	0.0	0.6	0.00		
12	Parbhani	15	3.1	0.4	36.59	2	13
13	Hingoli	10	2.1	1.1	8.93	8	17
*	**Nanded Range**	**44**	9.1	4.9	**52.25**		
14	Kolhapur	1	0.2	0.3	3.33	34	34
15	Pune Rural	11	2.3	2.8	3.99	29	15
16	Sangli	0	0.0	0.2	0.00		
17	Satara	4	0.8	0.3	13.33	5	30
18	Solapur Rural	8	1.7	0.6	13.33	6	22
*	**Kolhapur Range**	**24**	5.0	4.1	**33.99**		
19	Bhandara	0	0.0	0.9	0.00		
20	Chandrapur	22	4.6	3.9	5.66	14	6
21	Nagpur Rural	2	0.4	2.5	0.79	36	33
22	Wardha	20	4.1	1.5	13.33	7	7
*	**Nagpur Range**	**44**	9.1	8.8	**19.78**		
23	Gadchiroli	8	1.7	4.2	1.93	31	23
24	Gondia	13	2.7	2.1	6.07	12	14
*	**Gadchiroli Range**	**21**	4.3	6.3	**8.00**		
25	Ahmednagar	20	4.1	3.8	5.29	18	8
26	Dhule	18	3.7	6.5	2.78	23	10
27	Jalgaon	29	6.0	6.0	4.80	15	3
28	Nasik Rural	34	7.0	14.5	2.34	19	2
29	Nandurbar	18	3.7	11.4	1.58	24	11
*	**Nasik Range**	**119**	24.6	42.2	**16.79**		
30	Raigad	17	3.5	3.0	5.70	13	12
31	Ratnagiri	1	0.2	0.2	5.00	37	35
32	Sindhudurg	0	0.0	0.1	0.00		
33	Thane Rural	9	1.9	3.0	3.05	17	19
34	Palghar	24	5.0	11.2	2.15	22	5
*	**Thane Range**	**51**	10.6	17.4	**15.90**		
35	Mumbai Railway	0	0.0		0.00		
36	Pune Railway	0	0.0		0.00		
37	Nagpur Railway	0	0.0		0.00		
*	**Railway Range**	**0**	0.0		**0.00**		
38	Nagpur Commr.	4	0.8	1.9	2.16	20	31
39	Pune Commr.	1	0.2	0.7	1.37	25	36
40	Thane Commr.	5	1.0	1.1	4.50	16	29
41	Mumbai Commr.	6	1.2	1.3	4.62	32	27
42	Nasik Commr.	1	0.2	1.1	0.89	27	37
43	Aurangabad Commr.	0	0.0	0.2	0.00		
44	Solapur Commr.	0	0.0	0.2	0.00		
45	Navi Mumbai	2	0.4	0.3	7.41	10	33
46	Amravati Commr.	7	1.4	0.2	43.75	1	26
*	**Total Commrs.**	**26**	**5.4**	**6.9**	**64.70**		
*	**Total of M.S**	**483**	**100**	**105.1**	**327.0**		

तक्ता क्र. ३४

सन २०१५ मध्ये महाराष्ट्र राज्यात अनुसुचित जमाती संबधित (ज्यात अनुसूचित जमातीचे सदस्य बळी आहेत) असे दाखल झालेले गुन्हे व टक्केवारी

Table No. 34

Incidence & Rate of Crimes Committed Against Scheduled Tribes During 2015

Sr. No.	UNIT	Population Of STs (in Lakh) census 2011	Protection of Civil Rights Act, 1955			SC/ST (Prevention of Atrocities) Act											
						Murder (Section 302 IPC)			Attempt to commit Murder (Section 307 IPC)			Rape (Section 376 IPC)			Attempt to commit Rape (Section 376/511 IPC)		
			I	V	R	I	V	R	I	V	R	I	V	R	I	V	R
1	2	3	4	5	6	7	8	9	10	11	12	13	14	15	16	17	18
1	Akola	1.00	0	0	0.00	0	0	0.00	0	0	0.00	1	1	0.00	0	0	0.00
2	Amravati Rural	3.88	0	0	0.00	1	1	0.00	0	0	0.00	7	7	0.00	0	0	0.00
3	Buldhana	1.25	0	0	0.00	0	0	0.00	0	0	0.00	2	2	0.00	0	0	0.00
4	Yavatmal	5.14	0	0	0.00	1	1	0.00	0	0	0.00	18	18	0.00	0	0	0.00
5	Washim	0.80	0	0	0.00	1	1	0.00	1	1	0.00	0	0	0.00	0	0	0.00
*	**Amravati Range**	**12.07**	**0**	**0**	**0**	**3**	**3**	**0**	**1**	**1**	**0**	**28**	**28**	**0**	**0**	**0**	**0**
6	Aurangabad Rural	1.27	0	0	0.00	0	0	0.00	1	1	0.00	0	0	0.00	0	0	0.00
7	Jalna	0.42	0	0	0.00	0	0	0.00	0	0	0.00	1	1	0.00	0	0	0.00
8	Beed	0.33	0	0	0.00	0	0	0.00	1	1	0.00	3	3	0.00	0	0	0.00
9	Osmanabad	0.36	0	0	0.00	0	0	0.00	0	0	0.00	4	4	0.00	0	0	0.00
.	**Aurangabad Range**	**2.38**	**0**	**0**	0.00	**0**	**0**	0.00	**2**	**2**	0.00	**7**	**7**	0.00	**0**	**0**	0.00
10	Nanded	2.82	0	0	0.00	1	1	0.00	1	1	0.00	4	4	0.00	0	0	0.00
11	Latur	0.57	0	0	0.00	0	0	0.00	0	0	0.00	0	0	0.00	0	0	0.00
12	Parbhani	0.41	0	0	0.00	0	0	0.00	0	0	0.00	0	0	0.00	0	0	0.00
13	Hingoli	1.12	0	0	0.00	0	0	0.00	0	0	3.00	3	0	0.00	0	0	0.00
*	**Nanded Range**	**4.92**	**0**	**0**	0.00	**1**	**1**	0.00	**0**	**0**	3.00	**0**	**0**	0.00	**0**	**0**	0.00
14	Kolhapur	0.3	0	0	0.00	0	0	0.00	0	0	0.00	0	0	0.00	0	0	0.00
15	Pune Rural	2.76	1	1	0.00	0	0	0.00	0	0	0.00	4	4	0.00	0	0	0.00
16	Sangli	0.18	0	0	0.00	0	0	0.00	0	0	0.00	0	0	0.00	0	0	0.00
17	Satara	0.3	0	0	0.00	0	0	0.00	0	0	0.00	1	1	0.00	0	0	0.00
18	Solapur Rural	0.6	0	0	0.00	2	2	0.00	0	0	0.00	2	2	0.10	0	0	0.00
*	**Kolhapur Range**	**4.14**	**1**	**1**	0.00	**2**	**2**	0.00	**0**	**0**	0.00	**7**	**7**	0.10	**0**	**0**	0.00
19	Bhandara	0.89	0	0	0.00	0	0	0.00	0	0	0.00	0	0	0.00	0	0	0.00
20	Chandrapur	3.89	0	0	0.00	1	1	0.00	0	0	0.00	9	9	2.31	0	0	0.00
21	Nagpur Rural	2.52	0	0	0.00	0	0	0.00	0	0	0.00	1	1	0.00	0	0	0.00
22	Wardha	1.50	0	0	0.00	1	1	0.00	0	0	0.00	6	6	0.00	0	0	0.00
*	**Nagpur Range**	**8.8**	**0**	**0**	0.00	**2**	**2**	0.00	**0**	**0**	0.00	**16**	**16**	2.31	**0**	**0**	0.00
23	Gadchiroli	4.15	0	0	0.00	0	0	0.00	0	0	0.00	3	3	0.10	0	0	0.00
24	Gondia	2.14	0	0	0.00	0	0	0.00	1	1	0.47	4	4	0.00	0	0	0.00
*	**Gadchiroli Range**	**6.29**	**0**	**0**	0.00	**0**	**0**	0.00	**1**	**1**	0.47	**7**	**7**	0.10	**0**	**0**	0.00
25	Ahmednagar	3.78	0	0	0.00	0	0	0.00	1	1	0.00	6	6	0.00	0	0	0.00
26	Dhule	6.47	0	0	0.00	0	0	0.00	0	0	0.00	0	0	0.00	0	0	0.00
27	Jalgaon	6.04	0	0	0.00	1	1	0.00	0	0	0.00	1	1	0.00	0	0	0.00
28	Nasik Rural	14.53	0	0	0.00	1	1	0.00	1	1	0.07	7	7	0.48	0	0	0.00
29	Nandurbar	11.42	0	0	0.00	0	0	0.00	1	1	0.00	2	2	0.00	0	0	0.00
*	**Nasik Range**	**42.24**	**0**	**0**	0.00	**2**	**2**	0.00	**3**	**3**	0.07	**16**	**16**	0.48	**0**	**0**	0.00
30	Raigad	2.98	0	0	0.00	1	1	0.00	0	0	0.00	2	2	0.00	0	0	0.00
31	Ratnagiri	0.20	0	0	0.00	0	0	0.00	0	0	0.00	0	0	0.00	0	0	0.00
32	Sindhudurg	0.07	0	0	0.00	0	0	0.00	0	0	0.00	0	0	0.00	0	0	0.00
33	Thane Rural	2.95	0	0	0.00	0	0	0.00	0	0	0.00	0	0	0.00	0	0	0.00
34	Palghar	11.18	0	0	0.00	0	0	0.00	0	0	0.00	0	0	0.00	0	0	0.00
*	**Thane Range**	**17.38**	**0**	**0**	0.00	**1**	**1**	0.00	**0**	**0**	0.00	**2**	**2**	0.00	**0**	**0**	0.00
35	Mumbai Railway		0	0	0.00	0	0	0.00	0	0	0.00	0	0	0.00	0	0	0.00
36	Pune Railway		0	0	0.00	0	0	0.00	0	0	0.00	0	0	0.00	0	0	0.00
37	Nagpur Railway		0	0	0.00	0	0	0.00	0	0	0.00	0	0	0.00	0	0	0.00
*	**Railway Range**		**0**	**0**	0.00	**0**	**0**	**0.00**	**0**	**0**	0.00	**0**	**0**	0.00	**0**	**0**	0.00
38	Nagpur Commr.	1.85	0	0	0.00	0	0	0.00	0	0	0.00	4	4	2.16	0	0	0.00
39	Pune Commr.	0.73	0	0	0.00	0	0	0.00	0	0	0.00	0	0	0.00	0	0	0.00
40	Thane Commr.	1.11	0	0	0.00	0	0	0.00	0	0	0.00	0	0	0.00	0	0	0.00
41	Mumbai Commr.	1.30	0	0	0.00	0	0	0.00	0	0	0.00	1	1	0.00	0	0	0.00
42	Nasik Commr.	1.12	0	0	0.00	0	0	0.00	0	0	0.00	0	0	0.00	0	0	0.00
43	Aurangabad Commr.	0.16	0	0	0.00	0	0	0.00	0	0	0.00	0	0	0.00	0	0	0.00
44	Solapur Commr.	0.18	0	0	0.00	0	0	0.00	0	0	0.00	0	0	0.00	0	0	0.00
45	Navi Mumbai	0.27	0	0	0.00	0	0	0.00	0	0	0.00	1	1	3.70	0	0	0.00
46	Amravati Commr.	0.16	0	0	0.00	0	0	0.00	0	0	0.00	1	1	6.25	0	0	0.00
*	**Total Commrs.**	**6.88**	**0**	**0**	**0.00**	**0**	**0**	**0.00**	**0**	**0**	**0.00**	**10**	**10**	**12.12**	**0**	**0**	**0.00**
*	**Total**	**105.1**	**1**	**1**	**0.00**	**11**	**11**	**0.00**	**8**	**10**	**0.07**	**99**	**99**	**0.82**	**0**	**0**	**0**

तक्ता क्र. ३४

सन २०१५ मध्ये महाराष्ट्र राज्यात अनुसुचित जमाती संबधित (ज्यात अनुसूचित जमातीचे सदस्य बळी आहेत) असे दाखल झालेले गुन्हे व टक्केवारी

Table No. 34

Incidence & Rate of Crimes Committed Against Scheduled Tribes During 2015

Sr. No.	UNIT	SC/ST (Prevention of Atrocities) Act														
		Assault on ST women to outrage her Modesty (Section 354 IPC) (Total)			Sexual Harassment (Section 354A IPC)			Assault or use of criminal force to women with intent to Disrobe (Section 354B IPC)			Voyeurism (Section 354C IPC)			Stalking (Section 354D IPC)		
		I	V	R	I	V	R	I	V	R	I	V	R	I	V	R
1	2	19	20	21	22	23	24	25	26	27	28	29	30	31	32	33
1	Akola	3	3	3.00	2	2	2.00	0	0	0.00	0	0	0.00	0	0	0.00
2	Amravati Rural	12	12	0.00	7	7	0.00	0	0	0.00	1	1	0.26	0	0	0.00
3	Buldhana	1	1	0.80	1	1	0.80	0	0	0.00	0	0	0.00	0	0	0.00
4	Yavatmal	21	21	4.09	11	11	2.14	3	3	0.58	0	0	0.00	2	2	0.39
5	Washim	4	4	5.00	4	4	5.00	0	0	0.00	0	0	0.00	0	0	0.00
*	**Amravati Range**	**41**	**41**	**12.886**	**25**	**25**	**9.940078**	**3**	**3**	**0.583658**	**1**	**1**	0.08	**2**	**2**	0.17
6	Aurangabad Rural	5	5	3.94	0	0	0.00	1	1	0.79	0	0	0.00	0	0	0.00
7	Jalna	0	0	0.00	0	0	0.00	0	0	0.00	0	0	0.00	0	0	0.00
8	Beed	3	3	9.09	2	2	6.06	0	0	0.00	0	0	0.00	0	0	0.00
9	Osmanabad	0	0	0.00	0	0	0.00	0	0	0.00	0	0	0.00	0	0	0.00
*	**Aurangabad Range**	**8**	**8**	3.36	**2**	**2**	0.84	**1**	**1**	0.42	**0**	**0**	0.00	**0**	**0**	0.00
10	Nanded	8	8	2.84	8	8	0.00	0	0	0.00	0	0	0.00	0	0	0.00
11	Latur	0	0	0.00	0	0	0.00	0	0	0.00	0	0	0.00	0	0	0.00
12	Parbhani	5	5	12.20	3	3	7.32	1	1	2.44	0	0	0.00	0	0	0.00
13	Hingoli	3	3	2.68	2	2	1.79	0	0	0.00	0	0	0.00	0	0	0.00
*	**Nanded Range**	**16**	**16**	3.25	**13**	**13**	2.64	**0**	**0**	0.00	**0**	**0**	0.00	**0**	**0**	0.00
14	Kolhapur	0	0	0.00	0	0	0.00	0	0	0.00	0	0	0.00	0	0	0.00
15	Pune Rural	4	4	1.45	1	1	0.36	0	0	0.00	0	0	0.00	0	0	0.00
16	Sangli	0	0	0.00	0	0	0.00	0	0	0.00	0	0	0.00	0	0	0.00
17	Satara	2	2	0.00	1	1	3.33	1	1	3.33	0	0	0.00	0	0	0.00
18	Solapur Rural	1	1	1.67	0	0	0.00	0	0	0.00	0	0	0.00	0	0	0.00
*	**Kolhapur Range**	**6**	**6**	1.45	**2**	**2**	0.48	**0**	**0**	0.00	**0**	**0**	0.00	**0**	**0**	0.00
19	Bhandara	0	0	0.00	0	0	0.00	0	0	0.00	0	0	0.00	0	0	0.00
20	Chandrapur	8	8	0.50	0	0	0.00	0	0	0.00	0	0	0.00	0	0	0.00
21	Nagpur Rural	1	1	0.40	0	0	0.00	0	0	0.00	0	0	0.00	0	0	0.00
22	Wardha	9	9	6.00	5	5	3.33	1	1	0.67	0	0	0.00	0	0	0.00
*	**Nagpur Range**	**18**	**18**	0.50	**5**	**5**	0.57	**1**	**1**	0.11	**0**	**0**	0.00	**0**	**0**	0.00
23	Gadchiroli	2	2	0.00	2	2	0.48	0	0	0.00	0	0	0.00	0	0	0.00
24	Gondia	6	6	0.00	6	6	0.30	0	0	0.00	0	0	0.00	0	0	0.00
*	**Gadchiroli Range**	**8**	**8**	0.00	**8**	**8**	0.30	**0**	**0**	0.00	**0**	**0**	0.00	**0**	**0**	0.00
25	Ahmednagar	5	5	1.32	0	0	0.00	0	0	0.00	0	0	0.00	0	0	0.00
26	Dhule	7	7	0.40	0	0	0.00	0	0	0.00	0	0	0.00	0	0	0.00
27	Jalgaon	6	6	0.99	6	6	0.99	0	0	0.00	0	0	0.00	0	0	0.00
28	Nasik Rural	7	7	0.48	7	7	0.48	0	0	0.00	0	0	0.00	0	0	0.00
29	Nandurbar	5	5	0.44	2	2	0.18	0	0	0.00	0	0	0.00	2	2	0.18
*	**Nasik Range**	**24**	**24**	0.57	**13**	**13**	0.31	**0**	**0**	0.00	**0**	**0**	0.00	**2**	**2**	0.05
30	Raigad	1	1	0.34	0	0	0.00	0	0	0.00	0	0	0.00	0	0	0.00
31	Ratnagiri	0	0	0.00	0	0	0.00	0	0	0.00	0	0	0.00	0	0	0.00
32	Sindhudurg	0	0	0.00	0	0	0.00	0	0	0.00	0	0	0.00	0	0	0.00
33	Thane Rural	1	1	0.34	1	1	0.34	0	0	0.00	0	0	0.00	0	0	0.00
34	Palghar	5	5	0.45	1	1	0.09	0	0	0.00	0	0	0.00	0	0	0.00
*	**Thane Range**	**7**	**7**	0.40	**2**	**2**	0.12	**0**	**0**	0.00	**0**	**0**	0.00	**0**	**0**	0.00
35	Mumbai Railway	0	0	0.00	0	0	0.00	0	0	0.00	0	0	0.00	0	0	0.00
36	Pune Railway	0	0	0.00	0	0	0.00	0	0	0.00	0	0	0.00	0	0	0.00
37	Nagpur Railway	0	0	0.00	0	0	0.00	0	0	0.00	0	0	0.00	0	0	0.00
*	**Railway Range**	**0**	**0**	0.00	**0**	**0**	0.00	**0**	**0**	0.00	**0**	**0**	0.00	**0**	**0**	0.00
38	Nagpur Commr.	0	0	0.00	0	0	0.00	0	0	0.00	0	0	0.00	0	0	0.00
39	Pune Commr.	1	1	1.37	0	0	0.00	0	0	0.00	0	0	0.00	0	0	0.00
40	Thane Commr.	0	0	0.00	0	0	0.00	0	0	0.00	0	0	0.00	0	0	0.00
41	Mumbai Commr.	1	1	0.77	0	0	0.00	0	0	0.00	0	0	0.00	0	0	0.00
42	Nasik Commr.	0	0	0.00	0	0	0.00	0	0	0.00	0	0	0.00	0	0	0.00
43	Aurangabad Commr.	0	0	0.00	0	0	0.00	0	0	0.00	0	0	0.00	0	0	0.00
44	Solapur Commr.	0	0	0.00	0	0	0.00	0	0	0.00	0	0	0.00	0	0	0.00
45	Navi Mumbai	0	0	0.00	0	0	0.00	0	0	0.00	0	0	0.00	0	0	0.00
46	Amravati Commr.	5	5	31.25	2	2	12.50	0	0	0.00	0	0	0.00	0	0	0.00
*	**Total Commrs.**	**7**	**7**	1.02	**2**	**2**	0.29	**0**	**0**	0.00	**0**	**0**	0.00	**0**	**0**	0.00
*	**Total**	**146**	**146**	**23.437**	**74**	**74**	**15.4875**	**7**	**7**	**1.117462**	**1**	**1**	**0.0829**	**4**	**4**	**0.213**

तक्ता क्र. ३४

सन २०१५ मध्ये महाराष्ट्र राज्यात अनुसुचित जमाती संबधित (ज्यात अनुसूचित जमातीचे सदस्य बळी आहेत) असे दाखल झालेले गुन्हे व टक्केवारी

Table No. 34

Incidence & Rate of Crimes Committed Against Scheduled Tribes During 2015

Sr. No.	UNIT	SC/ST (Prevention of Atrocities) Act														
		Others			Insult to Modesty of STWomen(Sec 509 IPC)			Kidnapping & Abduction (Section 363,364,364A, 366 IPC) Total			K & A (Section 363 IPC)			K & A (Section 364 IPC)		
		I	V	R	I	V	R	I	V	R	I	V	R	I	V	R
1	2	34	35	36	37	38	39	40	41	42	43	44	45	46	47	48
1	Akola	1	1	1.00	0	0	0.00	0	0	0.00	0	0	0.00	0	0	0.00
2	Amravati Rural	1	1	0.26	0	0	0.00	0	0	0.00	0	0	0.00	0	0	0.00
3	Buldhana	0	0	0.00	0	0	0.00	0	0	0.00	0	0	0.00	0	0	0.00
4	Yavatmal	5	5	0.97	1	1	0.19	0	0	0.00	0	0	0.00	0	0	0.00
5	Washim	0	0	0.00	0	0	0.00	0	0	0.00	0	0	0.00	0	0	0.00
*	**Amravati Range**	**7**	**7**	0.58	**1**	**1**	0.08	**0**	**0**	0.00	**0**	**0**	0.00	**0**	**0**	0.00
6	Aurangabad Rural	4	4	3.15	0	0	0.00	0	0	0.00	0	0	0.00	0	0	0.00
7	Jalna	4	4	9.52	0	0	0.00	1	1	2.38	0	0	0.00	0	0	0.00
8	Beed	1	1	3.03	0	0	0.00	0	0	0.00	0	0	0.00	0	0	0.00
9	Osmanabad	0	0	0.00	0	0	0.00	0	0	0.00	0	0	0.00	0	0	0.00
*	**Aurangabad Range**	**9**	**9**	3.78	**0**	**0**	0.00	**1**	**1**	0.42	**0**	**0**	0.00	**0**	**0**	0.00
10	Nanded	0	0	0.00	0	0	0.00	0	0	0.00	0	0	0.00	0	0	0.00
11	Latur	0	0	0.00	0	0	0.00	0	0	0.00	0	0	0.00	0	0	0.00
12	Parbhani	1	1	2.44	0	0	0.00	0	0	0.00	0	0	0.00	0	0	0.00
13	Hingoli	1	1	0.89	0	0	0.00	0	0	0.00	0	0	0.00	0	0	0.00
*	**Nanded Range**	**2**	**2**	0.41	**0**	**0**	0.00	**1**	**1**	0.20	**0**	**0**	0.00	**0**	**0**	0.00
14	Kolhapur	0	0	0.00	0	0	0.00	0	0	0.00	0	0	0.00	0	0	0.00
15	Pune Rural	3	3	1.09	0	0	0.00	0	0	0.00	0	0	0.00	0	0	0.00
16	Sangli	0	0	0.00	0	0	0.00	0	0	0.00	0	0	0.00	0	0	0.00
17	Satara	0	0	0.00	0	0	0.00	0	0	0.00	0	0	0.00	0	0	0.00
18	Solapur Rural	1	1	1.67	0	0	0.00	0	0	0.00	0	0	0.00	0	0	0.00
*	**Kolhapur Range**	**1**	**1**	0.24	**0**	**0**	0.00	**0**	**0**	0.00	**0**	**0**	0.00	**0**	**0**	0.00
19	Bhandara	0	0	0.00	0	0	0.00	0	0	0.00	0	0	0.00	0	0	0.00
20	Chandrapur	8	8	2.06	0	0	0.00	0	0	0.00	0	0	0.00	0	0	0.00
21	Nagpur Rural	1	1	0.40	0	0	0.00	0	0	0.00	0	0	0.00	0	0	0.00
22	Wardha	3	3	2.00	0	0	0.00	2	2	1.33	0	0	0.00	0	0	0.00
*	**Nagpur Range**	**12**	**12**	1.36	**0**	**0**	0.00	**2**	**2**	0.23	**0**	**0**	0.00	**0**	**0**	0.00
23	Gadchiroli	0	0	0.00	0	0	0.00	0	0	0.00	0	0	0.00	0	0	0.00
24	Gondia	0	0	0.00	0	0	0.00	0	0	0.00	0	0	0.00	0	0	0.00
*	**Gadchiroli Range**	**0**	**0**	0.00	**0**	**0**	0.00	**0**	**0**	0.00	**0**	**0**	0.00	**0**	**0**	0.00
25	Ahmednagar	5	5	1.32	0	0	0.00	0	0	0.00	0	0	0.00	0	0	0.00
26	Dhule	7	7	1.08	0	0	0.00	0	0	0.00	0	0	0.00	0	0	0.00
27	Jalgaon	0	0	0.00	0	0	0.00	1	1	0.17	0	0	0.00	0	0	0.00
28	Nasik Rural	0	0	0.00	0	0	0.00	2	2	0.14	2	2	0.14	0	0	0.00
29	Nandurbar	1	1	0.09	0	0	0.00	2	2	0.18	0	0	0.00	0	0	0.00
*	**Nasik Range**	**13**	**13**	0.31	**0**	**0**	0.00	**5**	**5**	0.12	**2**	**2**	0.05	**0**	**0**	0.00
30	Raigad	1	1	0.34	0	0	0.00	0	0	0.00	0	0	0.00	0	0	0.00
31	Ratnagiri	0	0	0.00	0	0	0.00	1	1	5.00	1	1	5.00	0	0	0.00
32	Sindhudurg	0	0	0.00	0	0	0.00	0	0	0.00	0	0	0.00	0	0	0.00
33	Thane Rural	0	0	0.00	0	0	0.00	0	0	0.00	0	0	0.00	0	0	0.00
34	Palghar	4	4	0.36	0	0	0.00	0	0	0.00	0	0	0.00	0	0	0.00
*	**Thane Range**	**5**	**5**	0.29	**0**	**0**	0.00	**1**	**1**	0.06	**1**	**1**	0.06	**0**	**0**	0.00
35	Mumbai Railway	0	0	0.00	0	0	0.00	0	0	0.00	0	0	0.00	0	0	0.00
36	Pune Railway	0	0	0.00	0	0	0.00	0	0	0.00	0	0	0.00	0	0	0.00
37	Nagpur Railway	0	0	0.00	0	0	0.00	0	0	0.00	0	0	0.00	0	0	0.00
*	**Railway Range**	**0**	**0**	0.00	**0**	**0**	0.00	**0**	**0**	0.00	**0**	**0**	0.00	**0**	**0**	0.00
38	Nagpur Commr.	0	0	0.00	0	0	0.00	0	0	0.00	0	0	0.00	0	0	0.00
39	Pune Commr.	1	1	0.00	0	0	0.00	0	0	0.00	0	0	0.00	0	0	0.00
40	Thane Commr.	0	0	0.00	0	0	0.00	0	0	0.00	0	0	0.00	0	0	0.00
41	Mumbai Commr.	1	1	0.77	0	0	0.00	0	0	0.00	0	0	0.00	0	0	0.00
42	Nasik Commr.	0	0	0.00	0	0	0.00	0	0	0.00	0	0	0.00	0	0	0.00
43	Aurangabad Commr.	0	0	0.00	0	0	0.00	0	0	0.00	0	0	0.00	0	0	0.00
44	Solapur Commr.	0	0	0.00	0	0	0.00	0	0	0.00	0	0	0.00	0	0	0.00
45	Navi Mumbai	0	0	0.00	0	0	0.00	0	0	0.00	0	0	0.00	0	0	0.00
46	Amravati Commr.	3	3	18.75	0	0	0.00	0	0	0.00	0	0	0.00	0	0	0.00
*	**Total Commrs.**	**5**	**5**	0.73	**0**	**0**	0.00	**0**	**0**	0.00	**0**	**0**	0.00	**0**	**0**	0.00
*	**Total**	**60**	**60**	**7.6953**	**1**	**1**	**0.08285**	**9**	**9**	**1.026601**	**3**	**3**	**0.1049**	**0**	**0**	**0**

तक्ता क्र. ३४

सन २०१५ मध्ये महाराष्ट्र राज्यात अनुसुचित जमाती संबधित (ज्यात अनुसूचित जमातीचे सदस्य बळी आहेत) असे दाखल झालेले गुन्हे व टक्केवारी

Table No. 34

Incidence & Rate of Crimes Committed Against Scheduled Tribes During 2015

Sr. No.	UNIT	SC/ST (Prevention of Atrocities) Act														
		K & A for Ransom (Section 364A IPC)			K & A of ST women to compel her for marriage (Sec 366IPC)			Others			Dacoity (Section 395,396 & 398 IPC)			Dacoity with Murder (Section 396 IPC)		
		I	V	R	I	V	R	I	V	R	I	V	R	I	V	R
1	2	49	50	51	52	53	54	55	56	57	58	59	60	61	62	63
1	Akola	0	0	0.00	0	0	0.00	0	0	0.00	0	0	0.00	0	0	0.00
2	Amravati Rural	0	0	0.00	0	0	0.00	0	0	0.00	0	0	0.00	0	0	0.00
3	Buldhana	0	0	0.00	0	0	0.00	0	0	0.00	0	0	0.00	0	0	0.00
4	Yavatmal	0	0	0.00	0	0	0.00	0	0	0.00	0	0	0.00	0	0	0.00
5	Washim	0	0	0.00	0	0	0.00	0	0	0.00	0	0	0.00	0	0	0.00
*	**Amravati Range**	**0**	**0**	0.00	**0**	**0**	0.00	**0**	**0**	0.00	**0**	**0**	0.00	**0**	**0**	0.00
6	Aurangabad Rural	0	0	0.00	0	0	0.00	0	0	0.00	0	0	0.00	0	0	0.00
7	Jalna	0	0	0.00	0	0	0.00	1	1	2.38	0	0	0.00	0	0	0.00
8	Beed	0	0	0.00	0	0	0.00	0	0	0.00	0	0	0.00	0	0	0.00
9	Osmanabad	0	0	0.00	0	0	0.00	0	0	0.00	0	0	0.00	0	0	0.00
*	**Aurangabad Range**	**0**	**0**	0.00	**0**	**0**	0.00	**1**	**1**	0.42	**0**	**0**	0.00	**0**	**0**	0.00
10	Nanded	0	0	0.00	0	0	0.00	0	0	0.00	0	0	0.00	0	0	0.00
11	Latur	0	0	0.00	0	0	0.00	0	0	0.00	0	0	0.00	0	0	0.00
12	Parbhani	0	0	0.00	0	0	0.00	0	0	0.00	0	0	0.00	0	0	0.00
13	Hingoli	0	0	0.00	0	0	0.00	0	0	0.00	0	0	0.00	0	0	0.00
*	**Nanded Range**	**0**	**0**	0.00	**0**	**0**	0.00	**0**	**0**	0.00	**0**	**0**	0.00	**0**	**0**	0.00
14	Kolhapur	0	0	0.00	0	0	0.00	0	0	0.00	0	0	0.00	0	0	0.00
15	Pune Rural	0	0	0.00	0	0	0.00	0	0	0.00	0	0	0.00	0	0	0.00
16	Sangli	0	0	0.00	0	0	0.00	0	0	0.00	0	0	0.00	0	0	0.00
17	Satara	0	0	0.00	0	0	0.00	0	0	0.00	0	0	0.00	0	0	0.00
18	Solapur Rural	0	0	0.00	0	0	0.00	0	0	0.00	0	0	0.00	0	0	0.00
*	**Kolhapur Range**	**0**	**0**	0.00	**0**	**0**	0.00	**0**	**0**	0.00	**0**	**0**	0.00	**0**	**0**	0.00
19	Bhandara	0	0	0.00	0	0	0.00	0	0	0.00	0	0	0.00	0	0	0.00
20	Chandrapur	0	0	0.00	0	0	0.00	0	0	0.00	0	0	0.00	0	0	0.00
21	Nagpur Rural	0	0	0.00	0	0	0.00	0	0	0.00	0	0	0.00	0	0	0.00
22	Wardha	0	0	0.00	1	1	0.67	1	1	0.67	0	0	0.00	0	0	0.00
*	**Nagpur Range**	**0**	**0**	0.00	**0**	**0**	0.00	**0**	**0**	0.00	**0**	**0**	0.00	**0**	**0**	0.00
23	Gadchiroli	0	0	0.00	0	0	0.00	0	0	0.00	0	0	0.00	0	0	0.00
24	Gondia	0	0	0.00	0	0	0.00	0	0	0.00	0	0	0.00	0	0	0.00
*	**Gadchiroli Range**	**0**	**0**	0.00	**0**	**0**	0.00	**0**	**0**	0.00	**0**	**0**	0.00	**0**	**0**	0.00
25	Ahmednagar	0	0	0.00	0	0	0.00	0	0	0.00	0	0	0.00	0	0	0.00
26	Dhule	0	0	0.00	0	0	0.00	0	0	0.00	0	0	0.00	0	0	0.00
27	Jalgaon	0	0	0.00	1	1	0.17	0	0	0.00	1	1	0.17	0	0	0.00
28	Nasik Rural	0	0	0.00	0	0	0.00	0	0	0.00	0	0	0.00	0	0	0.00
29	Nandurbar	0	0	0.00	2	2	0.18	0	0	0.00	1	1	0.09	0	0	0.00
*	**Nasik Range**	**0**	**0**	0.00	**3**	**3**	0.07	**0**	**0**	0.00	**1**	**1**	0.02	**0**	**0**	0.00
30	Raigad	0	0	0.00	0	0	0.00	0	0	0.00	0	0	0.00	0	0	0.00
31	Ratnagiri	0	0	0.00	0	0	0.00	0	0	0.00	0	0	0.00	0	0	0.00
32	Sindhudurg	0	0	0.00	0	0	0.00	0	0	0.00	0	0	0.00	0	0	0.00
33	Thane Rural	0	0	0.00	0	0	0.00	0	0	0.00	0	0	0.00	0	0	0.00
34	Palghar	0	0	0.00	0	0	0.00	0	0	0.00	1	1	0.09	0	0	0.00
*	**Thane Range**	**0**	**0**	0.00	**0**	**0**	0.00	**0**	**0**	0.00	**1**	**1**	0.06	**0**	**0**	0.00
35	Mumbai Railway	0	0	0.00	0	0	0.00	0	0	0.00	0	0	0.00	0	0	0.00
36	Pune Railway	0	0	0.00	0	0	0.00	0	0	0.00	0	0	0.00	0	0	0.00
37	Nagpur Railway	0	0	0.00	0	0	0.00	0	0	0.00	0	0	0.00	0	0	0.00
*	**Railway Range**	**0**	**0**	0.00	**0**	**0**	0.00	**0**	**0**	0.00	**0**	**0**	0.00	**0**	**0**	0.00
38	Nagpur Commr.	0	0	0.00	0	0	0.00	0	0	0.00	0	0	0.00	0	0	0.00
39	Pune Commr.	0	0	0.00	0	0	0.00	0	0	0.00	0	0	0.00	0	0	0.00
40	Thane Commr.	0	0	0.00	0	0	0.00	0	0	0.00	0	0	0.00	0	0	0.00
41	Mumbai Commr.	0	0	0.00	0	0	0.00	0	0	0.00	0	0	0.00	0	0	0.00
42	Nasik Commr.	0	0	0.00	0	0	0.00	0	0	0.00	0	0	0.00	0	0	0.00
43	Aurangabad Commr.	0	0	0.00	0	0	0.00	0	0	0.00	0	0	0.00	0	0	0.00
44	Solapur Commr.	0	0	0.00	0	0	0.00	0	0	0.00	0	0	0.00	0	0	0.00
45	Navi Mumbai	0	0	0.00	0	0	0.00	0	0	0.00	0	0	0.00	0	0	0.00
46	Amravati Commr.	0	0	0.00	0	0	0.00	0	0	0.00	0	0	0.00	0	0	0.00
*	**Total Commrs.**	**0**	**0**	0.00	**0**	**0**	0.00	**0**	**0**	0.00	**0**	**0**	0.00	**0**	**0**	0.00
*	**Total**	**0**	**0**	**0**	**4**	**4**	**0.071023**	**2**	**2**	**0.420168**	**3**	**3**	**0.0812**	**0**	**0**	**0**

तक्ता क्र. ३४

सन २०१५ मध्ये महाराष्ट्र राज्यात अनुसुचित जमाती संबधित (ज्यात अनुसूचित जमातीचे सदस्य बळी आहेत) असे दाखल झालेले गुन्हे व टक्केवारी

Table No. 34

Incidence & Rate of Crimes Committed Against Scheduled Tribes During 2015

Sr. No.	UNIT	SC/ST (Prevention of Atrocities) Act														
		Others			Robbery (Section 392 to 394, 397 & 398 IPC)			Arson (Section 435, 436, 438 IPC)			Grievous Hurt (325,326,326A & 326 B IPC)			Grievous Hurt (Section 325 & 326 IPC)		
		I	V	R	I	V	R	I	V	R	I	V	R	I	V	R
1	2	64	65	66	67	68	69	70	71	72	73	74	75	76	77	78
1	Akola	0	0	0.00	0	0	0.00	0	0	0.00	0	0	0.00	0	0	0.00
2	Amravati Rural	0	0	0.00	0	0	0.00	0	0	0.00	1	1	0.26	1	1	0.26
3	Buldhana	0	0	0.00	0	0	0.00	0	0	0.00	0	0	0.00	0	0	0.00
4	Yavatmal	0	0	0.00	0	0	0.00	0	0	0.00	1	1	0.19	1	1	0.19
5	Washim	0	0	0.00	0	0	0.00	0	0	0.00	0	0	0.00	0	0	0.00
*	**Amravati Range**	**0**	**0**	0.00	**0**	**0**	0.00	**0**	**0**	0.00	**2**	**2**	0.17	**2**	**2**	0.17
6	Aurangabad Rural	0	0	0.00	1	1	0.79	0	0	0.00	1	1	0.79	1	1	0.79
7	Jalna	0	0	0.00	0	0	0.00	0	0	0.00	0	0	0.00	0	0	0.00
8	Beed	0	0	0.00	0	0	0.00	0	0	0.00	0	0	0.00	0	0	0.00
9	Osmanabad	0	0	0.00	0	0	0.00	0	0	0.00	0	0	0.00	0	0	0.00
*	**Aurangabad Range**	**0**	**0**	0.00	**1**	**1**	0.42	**0**	**0**	0.00	**1**	**1**	0.42	**1**	**1**	0.42
10	Nanded	0	0	0.00	0	0	0.00	0	0	0.00	0	0	0.00	0	0	0.00
11	Latur	0	0	0.00	0	0	0.00	0	0	0.00	0	0	0.00	0	0	0.00
12	Parbhani	0	0	0.00	0	0	0.00	1	1	2.44	1	1	2.44	1	1	2.44
13	Hingoli	0	0	0.00	0	0	0.00	0	0	0.00	0	0	0.00	0	0	0.00
*	**Nanded Range**	**0**	**0**	0.00	**0**	**0**	0.00	**1**	**1**	0.20	**1**	**1**	0.20	**1**	**1**	0.20
14	Kolhapur	0	0	0.00	0	0	0.00	0	0	0.00	0	0	0.00	0	0	0.00
15	Pune Rural	0	0	0.00	0	0	0.00	0	0	0.00	0	0	0.00	0	0	0.00
16	Sangli	0	0	0.00	0	0	0.00	0	0	0.00	0	0	0.00	0	0	0.00
17	Satara	0	0	0.00	0	0	0.00	0	0	0.00	0	0	0.00	0	0	0.00
18	Solapur Rural	0	0	0.00	0	0	0.00	1	1	1.67	0	0	0.00	0	0	0.00
*	**Kolhapur Range**	**0**	**0**	0.00	**0**	**0**	0.00	**1**	**1**	0.24	**0**	**0**	0.00	**0**	**0**	0.00
19	Bhandara	0	0	0.00	0	0	0.00	0	0	0.00	0	0	0.00	0	0	0.00
20	Chandrapur	0	0	0.00	0	0	0.00	0	0	0.00	0	0	0.00	0	0	0.00
21	Nagpur Rural	0	0	0.00	0	0	0.00	0	0	0.00	0	0	0.00	0	0	0.00
22	Wardha	0	0	0.00	0	0	0.00	0	0	0.00	0	0	0.00	0	0	0.00
*	**Nagpur Range**	**0**	**0**	0.00	**0**	**0**	0.00	**0**	**0**	0.00	**0**	**0**	0.00	**0**	**0**	0.00
23	Gadchiroli	0	0	0.00	0	0	0.00	0	0	0.00	0	0	0.00	0	0	0.00
24	Gondia	0	0	0.00	0	0	0.00	0	0	0.00	0	0	0.00	0	0	0.00
*	**Gadchiroli Range**	**0**	**0**	0.00	**0**	**0**	0.00	**0**	**0**	0.00	**0**	**0**	0.00	**0**	**0**	0.00
25	Ahmednagar	0	0	0.00	0	0	0.00	0	0	0.00	0	0	0.00	0	0	0.00
26	Dhule	0	0	0.00	0	0	0.00	0	0	0.00	0	0	0.00	0	0	0.00
27	Jalgaon	1	1	0.17	0	0	0.00	0	0	0.00	3	3	0.50	3	3	0.50
28	Nasik Rural	0	0	0.00	0	0	0.00	0	0	0.00	0	0	0.00	0	0	0.00
29	Nandurbar	1	1	0.09	0	0	0.00	0	0	0.00	0	0	0.00	0	0	0.00
*	**Nasik Range**	**2**	**2**	0.05	**0**	**0**	0.00	**0**	**0**	0.00	**3**	**3**	0.07	**3**	**3**	0.07
30	Raigad	0	0	0.00	0	0	0.00	0	0	0.00	0	0	0.00	0	0	0.00
31	Ratnagiri	0	0	0.00	0	0	0.00	0	0	0.00	0	0	0.00	0	0	0.00
32	Sindhudurg	0	0	0.00	0	0	0.00	0	0	0.00	0	0	0.00	0	0	0.00
33	Thane Rural	0	0	0.00	0	0	0.00	0	0	0.00	1	1	0.34	1	1	0.34
34	Palghar	1	1	0.09	0	0	0.00	0	0	0.00	1	1	0.09	1	1	0.09
*	**Thane Range**	**1**	**1**	0.06	**0**	**0**	0.00	**0**	**0**	0.00	**2**	**2**	0.12	**2**	**2**	0.12
35	Mumbai Railway	0	0	0.00	0	0	0.00	0	0	0.00	0	0	0.00	0	0	0.00
36	Pune Railway	0	0	0.00	0	0	0.00	0	0	0.00	0	0	0.00	0	0	0.00
37	Nagpur Railway	0	0	0.00	0	0	0.00	0	0	0.00	0	0	0.00	0	0	0.00
*	**Railway Range**	**0**	**0**	0.00	**0**	**0**	0.00	**0**	**0**	0.00	**0**	**0**	0.00	**0**	**0**	0.00
38	Nagpur Commr.	0	0	0.00	0	0	0.00	0	0	0.00	0	0	0.00	0	0	0.00
39	Pune Commr.	0	0	0.00	0	0	0.00	0	0	0.00	0	0	0.00	0	0	0.00
40	Thane Commr.	0	0	0.00	0	0	0.00	0	0	0.00	0	0	0.00	0	0	0.00
41	Mumbai Commr.	0	0	0.00	0	0	0.00	0	0	0.00	0	0	0.00	0	0	0.00
42	Nasik Commr.	0	0	0.00	0	0	0.00	0	0	0.00	0	0	0.00	0	0	0.00
43	Aurangabad Commr.	0	0	0.00	0	0	0.00	0	0	0.00	0	0	0.00	0	0	0.00
44	Solapur Commr.	0	0	0.00	0	0	0.00	0	0	0.00	0	0	0.00	0	0	0.00
45	Navi Mumbai	0	0	0.00	0	0	0.00	0	0	0.00	0	0	0.00	0	0	0.00
46	Amravati Commr.	0	0	0.00	0	0	0.00	0	0	0.00	0	0	0.00	0	0	0.00
*	**Total Commrs.**	**0**	**0**	0.00	**0**	**0**	0.00	**0**	**0**	0.00	**0**	**0**	0.00	**0**	**0**	0.00
*	**Total**	**3**	**3**	**0.1049**	**1**	**1**	**0.420168**	**2**	**2**	**0.444798**	**11**	**13**	**0.9752**	**11**	**13**	**0.975**

तक्ता क्र. ३४

सन २०१५ मध्ये महाराष्ट्र राज्यात अनुसुचित जमाती संबधित (ज्यात अनुसूचित जमातीचे सदस्य बळी आहेत) असे दाखल झालेले गुन्हे व टक्केवारी

Table No. 34

Incidence & Rate of Crimes Committed Against Scheduled Tribes During 2015

Sr. No.	UNIT	SC/ST (Prevention of Atrocities) Act														
		Acid attack (Section 326A IPC)			Attemp to Acid Attack(Sec 326B IPC)			Riots (Sections 147, 148, 149, 150 & 151 IPC)			Other IPC crimes			SC/ ST (Prevention of Atrocities) Act only		
		I	V	R	I	V	R	I	V	R	I	V	R	I	V	R
1	2	79	80	81	82	83	84	85	86	87	88	89	90	91	92	93
1	Akola	0	0	0.00	0	0	0.00	0	0	0.00	3	3	3.00	1	1	1.00
2	Amravati Rural	0	0	0.00	0	0	0.00	0	0	0.00	3	3	0.10	4	4	0.00
3	Buldhana	0	0	0.00	0	0	0.00	1	1	0.80	1	1	0.80	0	0	0.00
4	Yavatmal	0	0	0.00	0	0	0.00	2	2	0.39	19	19	3.70	10	10	1.95
5	Washim	0	0	0.00	0	0	0.00	1	1	1.25	0	0	0.00	0	0	0.00
*	**Amravati Range**	**0**	**0**	0.00	**0**	**0**	0.00	**4**	**4**	0.33	**26**	**26**	2.15	**20**	**20**	1.66
6	Aurangabad Rural	0	0	0.00	0	0	0.00	2	2	1.57	0	0	0.00	1	1	0.79
7	Jalna	0	0	0.00	0	0	0.00	0	0	0.00	2	2	4.76	0	0	0.00
8	Beed	0	0	0.00	0	0	0.00	1	1	3.03	1	1	3.03	0	0	0.00
9	Osmanabad	0	0	0.00	0	0	0.00	0	0	0.00	1	1	2.78	1	1	2.78
*	**Aurangabad Range**	**0**	**0**	0.00	**0**	**0**	0.00	**3**	**3**	0.00	**4**	**4**	1.68	**2**	**2**	0.84
10	Nanded	0	0	0.00	0	0	0.00	2	2	0.71	2	2	0.71	1	1	0.35
11	Latur	0	0	0.00	0	0	0.00	0	0	0.00	0	0	0.00	0	0	0.00
12	Parbhani	0	0	0.00	0	0	0.00	0	0	0.00	3	3	7.32	4	4	9.76
13	Hingoli	0	0	0.00	0	0	0.00	0	0	0.00	4	4	3.57	0	0	0.00
*	**Nanded Range**	**0**	**0**	0.00	**0**	**0**	0.00	**2**	**2**	0.41	**9**	**9**	1.83	**5**	**5**	1.02
14	Kolhapur	0	0	0.00	0	0	0.00	0	0	0.00	1	1	3.33	0	0	0.00
15	Pune Rural	0	0	0.00	0	0	0.00	0	0	0.00	1	1	0.36	1	1	0.36
16	Sangli	0	0	0.00	0	0	0.00	0	0	0.00	0	0	0.00	0	0	0.00
17	Satara	0	0	0.00	0	0	0.00	1	1	3.33	0	0	0.00	4	4	13.33
18	Solapur Rural	0	0	0.00	0	0	0.00	1	1	1.67	1	1	1.67	0	0	0.00
*	**Kolhapur Range**	**0**	**0**	0.00	**0**	**0**	0.00	**2**	**2**	0.48	**3**	**3**	0.72	**5**	**5**	1.21
19	Bhandara	0	0	0.00	0	0	0.00	0	0	0.00	0	0	0.00	0	0	0.00
20	Chandrapur	0	0	0.00	0	0	0.00	0	0	0.00	3	3	0.77	1	1	0.26
21	Nagpur Rural	0	0	0.00	0	0	0.00	0	0	0.00	0	0	0.00	0	0	0.00
22	Wardha	0	0	0.00	0	0	0.00	1	1	0.67	1	1	0.67	0	0	0.00
*	**Nagpur Range**	**0**	**0**	0.00	**0**	**0**	0.00	**1**	**1**	0.11	**4**	**4**	0.45	**1**	**1**	0.11
23	Gadchiroli	0	0	0.00	0	0	0.00	2	2	0.48	1	1	0.24	1	1	0.24
24	Gondia	0	0	0.00	0	0	0.00	2	2	0.10	1	1	0.47	3	3	1.40
*	**Gadchiroli Range**	**0**	**0**	0.00	**0**	**0**	0.00	**4**	**4**	0.10	**2**	**2**	0.32	**4**	**4**	0.64
25	Ahmednagar	0	0	0.00	0	0	0.00	3	3	0.79	5	5	1.32	0	0	0.00
26	Dhule	0	0	0.00	0	0	0.00	3	3	0.46	4	4	0.62	4	4	0.62
27	Jalgaon	0	0	0.00	0	0	0.00	7	7	1.16	3	3	0.50	6	6	0.99
28	Nasik Rural	0	0	0.00	0	0	0.00	7	7	0.48	5	5	0.34	4	4	0.28
29	Nandurbar	0	0	0.00	0	0	0.00	3	3	0.26	2	2	0.18	2	2	0.18
*	**Nasik Range**	**0**	**0**	0.00	**0**	**0**	0.00	**23**	**23**	0.54	**19**	**19**	0.45	**16**	**16**	0.38
30	Raigad	0	0	0.00	0	0	0.00	2	2	0.67	4	4	1.34	7	7	2.35
31	Ratnagiri	0	0	0.00	0	0	0.00	0	0	0.00	0	0	0.00	1	1	5.00
32	Sindhudurg	0	0	0.00	0	0	0.00	0	0	0.00	0	0	0.00	0	0	0.00
33	Thane Rural	0	0	0.00	0	0	0.00	0	0	0.00	0	0	0.00	9	9	3.05
34	Palghar	0	0	0.00	0	0	0.00	11	11	0.98	1	1	0.09	24	24	2.15
*	**Thane Range**	**0**	**0**	0.00	**0**	**0**	0.00	**13**	**13**	0.75	**5**	**5**	0.29	**41**	**41**	2.36
35	Mumbai Railway	0	0	0.00	0	0	0.00	0	0	0.00	0	0	0.00	0	0	0.00
36	Pune Railway	0	0	0.00	0	0	0.00	0	0	0.00	0	0	0.00	0	0	0.00
37	Nagpur Railway	0	0	0.00	0	0	0.00	0	0	0.00	0	0	0.00	0	0	0.00
*	**Railway Range**	**0**	**0**	0.00	**0**	**0**	0.00	**0**	**0**	0.00	**0**	**0**	0.00	**0**	**0**	0.00
38	Nagpur Commr.	0	0	0.00	0	0	0.00	0	0	0.00	0	0	0.00	4	4	2.16
39	Pune Commr.	0	0	0.00	0	0	0.00	0	0	0.00	0	0	0.00	1	1	1.37
40	Thane Commr.	0	0	0.00	0	0	0.00	2	2	1.80	1	1	0.90	5	5	4.50
41	Mumbai Commr.	0	0	0.00	0	0	0.00	2	2	1.54	1	1	0.77	6	6	4.62
42	Nasik Commr.	0	0	0.00	0	0	0.00	0	0	0.00	1	1	0.89	0	0	0.00
43	Aurangabad Commr.	0	0	0.00	0	0	0.00	0	0	0.00	0	0	0.00	1	1	6.25
44	Solapur Commr.	0	0	0.00	0	0	0.00	0	0	0.00	0	0	0.00	0	0	0.00
45	Navi Mumbai	0	0	0.00	0	0	0.00	1	1	3.70	0	0	0.00	2	2	7.41
46	Amravati Commr.	0	0	0.00	0	0	0.00	1	1	6.25	0	0	0.00	7	7	43.75
*	**Total Commrs.**	**0**	**0**	0.00	**0**	**0**	0.00	**6**	**6**	0.87	**9**	**9**	1.31	**6**	**6**	0.87
*	**Total**	**0**	**0**	**0**	**0**	**0**	**0**	**46**	**66**	**3.60**	**94**	**100**	**9.21**	**50**	**54**	**9.081**

तक्ता क्र. ३४

सन २०१५ मध्ये महाराष्ट्र राज्यात अनुसुचित जमाती संबधित (ज्यात अनुसूचित जमातीचे सदस्य बळी आहेत) असे दाखल झालेले गुन्हे व टक्केवारी

Table No. 34

Incidence & Rate of Crimes Committed Against Scheduled Tribes During 2015

Sr. No.	UNIT	Total of SC/ST (Prevention of Atrocities) Act (Sum of previous columns excluding sub heads)														
		Total of SC/ST (Prevention of Atrocities) Act (Sum of previous columns excluding sub heads)			IPC Crimes Committed Against STs (in which SC/ST POA Act not applied)			The Employment of Manual ST avengers (P) Act			Other SLL Crimes Against STs			Total Crimes Against STs		
		I	V	R	I	V	R	I	V	R	I	V	R	I	V	R
1	2	94	95	96	97	98	99	100	101	102	103	104	105	106	107	108
1	Akola	8	8	8.00	0	0	0.00	0	0	0.00	0	0	0.00	8	9	8.00
2	Amravati Rural	8	8	2.06	0	0	0.00	0	0	0.00	0	0	0.00	27	27	6.96
3	Buldhana	5	5	4.00	0	0	0.00	0	0	0.00	0	0	0.00	5	5	4.00
4	Yavatmal	73	73	14.20	0	0	0.00	0	0	0.00	0	0	0.00	73	73	14.20
5	Washim	7	7	8.75	0	0	0.00	0	0	0.00	0	0	0.00	7	7	8.75
*	**Amravati Range**	**101**	**101**	**37.014**	**0**	**0**	0.00	**0**	**0**	0.00	**0**	**0**	0.00	**120**	**121**	9.94
6	Aurangabad Rural	10	10	7.87	0	0	0.00	0	0	0.00	0	0	0.00	10	10	7.87
7	Jalna	8	8	19.05	0	0	0.00	0	0	0.00	0	0	0.00	8	8	19.05
8	Beed	9	9	27.27	0	0	0.00	0	0	0.00	0	0	0.00	9	9	27.27
9	Osmanabad	6	6	16.67	0	0	0.00	0	0	0.00	1	1	2.78	7	10	19.44
*	**Aurangabad Range**	**33**	**33**	**70.861**	**0**	**0**	0.00	**0**	**0**	0.00	**1**	**1**	0.42	**34**	**37**	14.29
10	Nanded	6	6	2.13	0	0	0.00	0	0	0.00	0	0	0.00	19	21	6.74
11	Latur	0	0	0.00	0	0	0.00	0	0	0.00	0	0	0.00	0	0	0.00
12	Parbhani	9	9	21.95	0	0	0.00	0	0	0.00	0	0	0.00	15	15	36.59
13	Hingoli	5	8	4.46	0	0	0.00	0	0	0.00	0	0	0.00	10	10	8.93
*	**Nanded Range**	**20**	**23**	4.07	**0**	**0**	0.00	**0**	**0**	0.00	**0**	**0**	0.00	**44**	**46**	8.94
14	Kolhapur	19	19	63.33	0	0	0.00	0	0	0.00	0	0	0.00	1	1	3.33
15	Pune Rural	10	10	3.62	0	0	0.00	0	0	0.00	0	0	0.00	11	11	3.99
16	Sangli	0	0	0.00	0	0	0.00	0	0	0.00	0	0	0.00	0	0	0.00
17	Satara	4	4	13.33	0	0	0.00	0	0	0.00	0	0	0.00	4	4	13.33
18	Solapur Rural	8	8	13.33	0	0	0.00	0	0	0.00	0	0	0.00	8	8	13.33
*	**Kolhapur Range**	**41**	**41**	**93.623**	**0**	**0**	0.00	**0**	**0**	0.00	**0**	**0**	0.00	**24**	**24**	5.80
19	Bhandara	0	0	0.00	0	0	0.00	0	0	0.00	0	0	0.00	0	0	0.00
20	Chandrapur	22	22	5.66	0	0	0.00	0	0	0.00	0	0	0.00	22	22	5.66
21	Nagpur Rural	2	2	0.79	0	0	0.00	0	0	0.00	0	0	0.00	2	2	0.79
22	Wardha	20	20	13.33	0	0	0.00	0	0	0.00	0	0	0.00	20	20	13.33
*	**Nagpur Range**	**44**	**44**	**19.783**	**0**	**0**	0.00	**0**	**0**	0.00	**0**	**0**	0.00	**44**	**44**	5.00
23	Gadchiroli	8	8	1.93	0	0	0.00	0	0	0.00	0	0	0.00	8	8	1.93
24	Gondia	13	13	6.07	0	0	0.00	0	0	0.00	0	0	0.00	13	13	6.07
*	**Gadchiroli Range**	**21**	**21**	3.34	**0**	**0**	0.00	**0**	**0**	0.00	**0**	**0**	0.00	**21**	**21**	3.34
25	Ahmednagar	20	20	5.29	0	0	0.00	0	0	0.00	0	0	0.00	20	20	5.29
26	Dhule	18	18	2.78	0	0	0.00	0	0	0.00	0	0	0.00	18	18	2.78
27	Jalgaon	29	29	4.80	0	0	0.00	0	0	0.00	0	0	0.00	29	35	4.80
28	Nasik Rural	34	34	2.34	0	0	0.00	0	0	0.00	0	0	0.00	34	49	2.34
29	Nandurbar	18	18	1.58	0	0	0.00	0	0	0.00	0	0	0.00	18	18	1.58
*	**Nasik Range**	**119**	**119**	**16.791**	**0**	**0**	0.00	**0**	**0**	0.00	**0**	**0**	0.00	**119**	**140**	2.82
30	Raigad	17	17	5.70	0	0	0.00	0	0	0.00	0	0	0.00	17	17	5.70
31	Ratnagiri	1	1	5.00	0	0	0.00	0	0	0.00	0	0	0.00	1	1	5.00
32	Sindhudurg	0	0	0.00	0	0	0.00	0	0	0.00	0	0	0.00	0	0	0.00
33	Thane Rural	9	9	3.05	0	0	0.00	0	0	0.00	0	0	0.00	9	11	3.05
34	Palghar	24	24	2.15	0	0	0.00	0	0	0.00	0	0	0.00	24	29	2.15
*	**Thane Range**	**51**	**51**	**15.902**	**0**	**0**	0.00	**0**	**0**	0.00	**0**	**0**	0.00	**51**	**58**	2.93
35	Mumbai Railway	0	0	0.00	0	0	0.00	0	0	0.00	0	0	0.00	0	0	0.00
36	Pune Railway	0	0	0.00	0	0	0.00	0	0	0.00	0	0	0.00	0	0	0.00
37	Nagpur Railway	0	0	0.00	0	0	0.00	0	0	0.00	0	0	0.00	0	0	0.00
*	**Railway Range**	**0**	**0**	0.00	**0**	**0**	0.00	**0**	**0**	0.00	**0**	**0**	0.00	**0**	**0**	0.00
38	Nagpur Commr.	4	4	2.16	0	0	0.00	0	0	0.00	0	0	0.00	4	4	2.16
39	Pune Commr.	1	1	1.37	0	0	0.00	0	0	0.00	0	0	0.00	1	1	1.37
40	Thane Commr.	5	5	4.50	0	0	0.00	0	0	0.00	0	0	0.00	5	6	4.50
41	Mumbai Commr.	6	6	4.62	0	0	0.00	0	0	0.00	0	0	0.00	6	6	4.62
42	Nasik Commr.	1	1	0.89	0	0	0.00	0	0	0.00	0	0	0.00	1	1	0.89
43	Aurangabad Commr.	0	0	0.00	0	0	0.00	0	0	0.00	0	0	0.00	0	0	0.00
44	Solapur Commr.	0	0	0.00	0	0	0.00	0	0	0.00	0	0	0.00	0	0	0.00
45	Navi Mumbai	2	2	7.41	0	0	0.00	0	0	0.00	0	0	0.00	2	2	7.41
46	Amravati Commr.	7	7	43.75	0	0	0.00	0	0	0.00	0	0	0.00	7	7	43.75
*	**Total Commrs.**	**26**	**26**	**64.702**	**0**	**0**	0.00	**0**	**0**	0.00	**0**	**0**	0.00	**26**	**27**	3.78
*	**Total**	**481**	**515**	**326.08**	**0**	**0**	**0**	**0**	**0**	**0**	**1**	**1**	**0.4202**	**483**	**518**	**56.84**

तक्ता क्र. ३४ अ

सन २०१५ मध्ये महाराष्ट्र राज्यात अनुसूचित जमाती संबंधित दाखल झालेल्या गुन्हयांची (शिर्ष- निहाय) पोलीसाकडून निर्गती

Table 34 A

Disposal of Cases by Police For Crimes Committed Against Scheduled Tribes (Crime Head-wise) During 2015

Sr. No.	Crime Head	Cases pending investigation from previous year	Cases reported during the year (156(3) Cr.P.C. + Police Stations)	No. of cases withdrawn by the Govt. during investigation	Cases transferred to other Police Station/ Magistrate	Total Cases for investigation (Col. 3+4 - 5 – 6)	Cases not investigated U/S 157(1)(b) of Cr.PC	Cases ended as final report false	Cases ended as mistake of fact or of law	Cases in ended as final report as Non Cognizable Submitted	Cases in which charge-sheets were submitted
1	2	3	4	5	6	7	8	9	10	11	12
1	Protection of Civil Rights Act, 1955	0	1	0	0	1	0	0	0	0	0
2	**SC/ST (Prevention of Atrocitites) Act**										
2.1	Murder	5	11	0	0	16	0	0	0	0	13
2.2	Attempt to commit Murder	2	8	0	0	10	0	0	0	0	7
2.3	Rape	21	99	0	1	119	0	1	0	0	79
2.4	Attempt to commit Rape	0	0	0	0	0	0	0	0	0	0
2.5	Assault on women with intent to outrage her Modesty	33	146	0	0	179	0	1	1	1	114
2.5.1	Sexual Harassment	18	74	0	0	92	0	1	1	1	55
2.5.2	Assault on women with intent to Disrobe	1	7	0	0	8	0	0	0	0	8
2.5.3	Voyeurism	1	1	0	0	2	0	0	0	0	2
2.5.4	Stalking	2	4	0	0	6	0	0	0	0	5
2.5.5	Other Sexual Harassment	11	60	0	0	71	0	0	0	0	44
2.6	Insult to the Modesty of women	0	1	0	0	1	0	0	0	0	0
2.7	Kidnapping & Abduction	4	9	0	0	13	0	0	1	0	9
2.7.1	Kidnaping & Abduction	1	3	0	0	4	0	0	0	0	3
2.7.2	Kidnaping & Abduction in order to Murder	0	0	0	0	0	0	0	0	0	0
2.7.3	Kidnapping for Ransom	0	0	0	0	0	0	0	0	0	0
2.7.4	Kidnapping & Abduction of Women to compel her for marriage	2	4	0	0	6	0	0	0	0	4
2.7.5	Other Kidnapping	1	2	0	0	3	0	0	1	0	2
2.8	Dacoity	2	3	0	0	5	0	1	0	0	0
2.8.1	Dacoity with Murder	0	0	0	0	0	0	0	0	0	0
2.8.2	Other Dacoity	2	3	0	0	5	0	1	0	0	0
2.9	Robbery	1	1	0	0	2	0	0	0	1	1
2.1	Arson	1	2	0	0	3	0	1	0	0	2
2.11	Grievous Hurt	6	11	1	0	16	0	0	0	0	8
2.11.1	Hurt	6	11	1	0	16	0	0	0	0	8
2.11.2	Acid attack	0	0	0	0	0	0	0	0	0	0
2.11.3	Attempt to Acid Attack	0	0	0	0	0	0	0	0	0	0
2.12	Riots	14	46	0	0	60	0	2	2	1	29
2.13	Other IPC crimes	51	94	1	0	144	0	10	8	4	54
2.14	SC / ST (Prevention of Atrocities) Act only	20	50	0	0	70	0	4	1	4	34
	Total of SC/ST (Prevention of Atrocities) Act	**160**	**481**	**2**	**1**	**638**	**0**	**20**	**13**	**11**	**350**
3	**IPC Crime in which SC/ST (POA) Act is not applied**	**0**	**0**	**0**	**0**	**0**	**0**	**0**	**0**	**0**	**0**
4	Manual Scavengers and Construction of Dry Latrines (P) Act, 1993	0	0	0	0	0	0	0	0	0	0
5	Other SLL Crime against STs	0	1	0	0	1	0	0	0	1	0
	Total crimes against STs	**160**	**483**	**2**	**1**	**640**	**0**	**20**	**13**	**12**	**350**

तक्ता क्र. ३४ (पूर्ण)

सन २०१५ मध्ये महाराष्ट्र राज्यात अनुसूचित जमाती संबंधित दाखल झालेल्या गुन्हयांची (शिर्ष- निहाय) पोलीसाकडून निर्गती

Table No. 34 A (Concluded)

Disposal of Cases by Police For Crimes Committed Against Scheduled Tribes (Crime Head-wise) During 2015

Sr. No.	Crime Head	Cases in which charge-sheets were not laid but final report as True submitted	Total cases Disposed off by police (Col. 8+ 9+10+11+12+13)	Cases pending investigation at the end of the year (col. 7 – col. 14)	Charge-sheeting Rate Col.12/(Col.12+13)*100	Cases Pendency Rate {Col.15/ (3+4) x 100
1	2	13	14	15	16	17
1	Protection of Civil Rights Act, 1955	0.0	0.0	1.0	-	100.0
2	**SC/ST (Prevention of Atrocitites) Act**					
2.1	Murder	13.0	0.0	13.0	3.0	100.0
2.2	Attempt to commit Murder	7.0	0.0	7.0	3.0	100.0
2.3	Rape	79.0	0.0	80.0	39.0	100.0
2.4	Attempt to commit Rape	0.0	0.0	0.0	0.0	-
2.5	Assault on women with intent to outrage her Modesty	114.0	2.0	119.0	60.0	98.3
2.5.1	Sexual Harassment	55.0	2.0	60.0	32.0	96.5
2.5.2	Assault on women with intent to Disrobe	8.0	0.0	8.0	0.0	100.0
2.5.3	Voyeurism	2.0	0.0	2.0	0.0	100.0
2.5.4	Stalking	5.0	0.0	5.0	1.0	100.0
2.5.5	Other Sexual Harassment	44.0	0.0	44.0	27.0	100.0
2.6	Insult to the Modesty of women	0.0	0.0	0.0	1.0	-
2.7	Kidnapping & Abduction	9.0	1.0	11.0	2.0	90.0
2.7.1	Kidnaping & Abduction	3.0	1.0	4.0	0.0	75.0
2.7.2	Kidnaping & Abduction in order to Murder	0.0	0.0	0.0	0.0	-
2.7.3	Kidnapping for Ransom	0.0	0.0	0.0	0.0	-
2.7.4	Kidnapping & Abduction of Women to compel her for marriage	4.0	0.0	4.0	2.0	100.0
2.7.5	Other Kidnapping	2.0	0.0	3.0	0.0	100.0
2.8	Dacoity	0.0	0.0	1.0	4.0	-
2.8.1	Dacoity with Murder	0.0	0.0	0.0	0.0	-
2.8.2	Other Dacoity	0.0	0.0	1.0	4.0	-
2.9	Robbery	1.0	0.0	2.0	0.0	100.0
2.1	Arson	2.0	0.0	3.0	0.0	100.0
2.11	Grievous Hurt	8.0	0.0	8.0	8.0	100.0
2.11.1	Hurt	8.0	0.0	8.0	8.0	100.0
2.11.2	Acid attack	0.0	0.0	0.0	0.0	-
2.11.3	Attempt to Acid Attack	0.0	0.0	0.0	0.0	-
2.12	Riots	29.0	2.0	36.0	24.0	93.5
2.13	Other IPC crimes	54.0	3.0	79.0	65.0	94.7
2.14	SC / ST (Prevention of Atrocities) Act only	34.0	0.0	43.0	27.0	100.0
	Total of SC/ST (Prevention of Atrocities) Act	**350.0**	**8.0**	**402.0**	**236.0**	**97.8**
3	**IPC Crime in which SC/ST (POA) Act is not applied**	**0**	**0**	**0**	**-**	**-**
4	Manual Scavengers and Construction of Dry Latrines (P) Act, 1993	0	0	0	-	-
5	Other SLL Crime against STs	0	1	0	-	0
	Total crimes against STs	**350**	**9**	**403**	**237**	**97.8**

तक्ता ३४ ब

सन २०१५ मध्ये महाराष्ट्र राज्यात अनुसूचित जमाती संबंधित दाखल झालेल्या गुन्हयांची (शिर्ष- निहाय) न्यायालयाकडून निर्गती

Table No. 34 B

Disposal of Cases by Courts For Crimes Committed Against Scheduled Tribes (Crime Head-wise) During 2015

Sr. No	Crime Head	Cases pending trial from the previous year (col.21)	Cases sent for trial during the year	No. of cases withdrawn by the Govt.	No. Of cases disposed by Plea Bargaining.	Total no. Of cases for trial during the year Col.7=Col.3+ 4 – Col.5 – col. 6	Cases compounded or withdrawn	Cases in which trials were completed (Col.9= Col. 10+11)	Cases convicted	Cases acquitted or discharged	Cases pending trial at the end of the year (Col.12 = Col.7 – (Col.8+9)	Conviction Rate {(10)/(9) × 100}	Cases Pendency Rate (Col. 12/7)x 100
1	2	3	4	5	6	7	8	9	10	11	12	13	14
1	Protection of Civil Rights Act, 1955	7.0	0.0	0.0	0.0	7.0	0.0	0.0	0.0	0.0	7.0	-	100.0
2	**SC/ST (Prevention of Atrocitites) Act**												
2.1	Murder	76.0	13.0	0.0	0.0	89.0	0.0	6.0	1.0	5.0	83.0	16.7	93.3
2.2	Attempt to commit Murder	24.0	7.0	0.0	0.0	31.0	0.0	2.0	0.0	2.0	29.0	0.0	93.5
2.3	Rape	347.0	79.0	0.0	0.0	426.0	0.0	44.0	8.0	36.0	382.0	18.2	89.7
2.4	Attempt to commit Rape	1.0	0.0	0.0	0.0	1.0	0.0	0.0	0.0	0.0	1.0	-	100.0
2.5	Assault on women with intent to outrage her Modesty	295.0	114.0	0.0	0.0	409.0	0.0	34.0	4.0	30.0	375.0	11.8	91.7
2.5.1	Sexual Harassment	66.0	55.0	0.0	0.0	121.0	0.0	17.0	1.0	16.0	104.0	5.9	86.0
2.5.2	Assault on women with intent to Disrobe	5.0	8.0	0.0	0.0	13.0	0.0	0.0	0.0	0.0	13.0	-	100.0
2.5.3	Voyeurism	2.0	2.0	0.0	0.0	4.0	0.0	0.0	0.0	0.0	4.0	-	100.0
2.5.4	Stalking	2.0	5.0	0.0	0.0	7.0	0.0	0.0	0.0	0.0	7.0	-	100.0
2.5.5	Other Sexual Harassment	220.0	44.0	0.0	0.0	264.0	0.0	17.0	3.0	14.0	247.0	17.6	93.6
2.6	Insult to the Modesty of women	20.0	0.0	0.0	0.0	20.0	0.0	0.0	0.0	0.0	20.0	-	100.0
2.7	Kidnapping & Abduction	41.0	9.0	0.0	0.0	50.0	0.0	1.0	0.0	1.0	49.0	0.0	98.0
2.7.1	Kidnaping & Abduction	6.0	3.0	0.0	0.0	9.0	0.0	0.0	0.0	0.0	9.0	-	100.0
2.7.2	Kidnaping & Abduction in order to Murder	0.0	0.0	0.0	0.0	0.0	0.0	0.0	0.0	0.0	0.0	-	-
2.7.3	Kidnapping for Ransom	1.0	0.0	0.0	0.0	1.0	0.0	0.0	0.0	0.0	1.0	-	100.0
2.7.4	Kidnapping & Abduction of Women to compel her for marriage	23.0	4.0	0.0	0.0	27.0	0.0	0.0	0.0	0.0	27.0	-	100.0
2.7.5	Other Kidnapping	11.0	2.0	0.0	0.0	13.0	0.0	1.0	0.0	1.0	12.0	0.0	92.3
2.8	Dacoity	17.0	0.0	0.0	0.0	17.0	0.0	1.0	0.0	1.0	16.0	0.0	94.1
2.8.1	Dacoity with Murder	0.0	0.0	0.0	0.0	0.0	0.0	0.0	0.0	0.0	0.0	-	-
2.8.2	Other Dacoity	17.0	0.0	0.0	0.0	17.0	0.0	1.0	0.0	1.0	16.0	0.0	94.1
2.9	Robbery	10.0	1.0	0.0	0.0	11.0	0.0	3.0	1.0	2.0	8.0	33.3	72.7
2.1	Arson	43.0	2.0	0.0	0.0	45.0	0.0	1.0	0.0	1.0	44.0	0.0	97.8
2.11	Grievous Hurt	47.0	8.0	0.0	0.0	55.0	0.0	6.0	0.0	6.0	49.0	0.0	89.1
2.11.1	Hurt	47.0	8.0	0.0	0.0	55.0	0.0	6.0	0.0	6.0	49.0	0.0	89.1
2.11.2	Acid attack	0.0	0.0	0.0	0.0	0.0	0.0	0.0	0.0	0.0	0.0	-	-
2.11.3	Attempt to Acid Attack	0.0	0.0	0.0	0.0	0.0	0.0	0.0	0.0	0.0	0.0	-	-
2.12	Riots	134.0	29.0	0.0	0.0	163.0	0.0	35.0	3.0	32.0	128.0	8.6	78.5
2.13	Other IPC crimes	468.0	54.0	0.0	0.0	522.0	2.0	37.0	7.0	30.0	483.0	18.9	92.5
2.14	SC / ST (Prevention of Atrocities) Act only	466.0	34.0	0.0	0.0	500.0	0.0	43.0	1.0	42.0	457.0	2.3	91.4
	Total of SC/ST (Prevention of Atrocities) Act	**1989.0**	**350.0**	**0.0**	**0.0**	**2339.0**	**2.0**	**213.0**	**25.0**	**188.0**	**2124.0**	**11.7**	**90.8**
3	**IPC Crime in which SC/ST (POA) Act is not applied**	**0**	**0**	**0**	**0**	**0**	**0**	**0**	**0**	**0**	**0**	**0**	**0**
4	Manual Scavengers and Construction of Dry Latrines (P) Act, 1993	0	0	0	0	0	0	0	0	0	0	0	0
5	Other SLL Crime against STs	0	0	0	0	0	0	0	0	0	0	0	0
6	**Total crimes against STs**	**1996**	**350**	**0**	**0**	**2346**	**2**	**213**	**25**	**188**	**2131**	**11.7370892**	**90.8**

प्रकरण - ८

चोरीस गेलेली, हस्तगत केलेली मालमत्ता व ठिकाणे

महाराष्ट्र राज्यातून एकूण चोरीस गेलेल्या, हस्तगत केलेल्या मालमत्तेची किंमत

८.१.१ सन २०११ ते २०१५ या कालावधीमध्ये महाराष्ट्र राज्यातून एकूण चोरीस गेलेल्या, हस्तगत केलेल्या मालमत्तेची किंमत व त्यांची टक्केवारी याबाबतची माहिती तक्ता क्रमांक ३५ मध्ये दिलेली आहे. सदर तक्त्यामध्ये गेल्या ३ वर्षामध्ये झालेली वाढ व घट यांची देखील माहिती देण्यात आलेली आहे.

८.१.२ सन २०१५ मध्ये महाराष्ट्र राज्यातून एकूण रु. ४५३३८९.५ लाखांची मालमत्ता चोरीस गेली होती. सन २०१४ पेक्षा ही ५४.०० % ने जास्त असून सन २०१५ साली २०११ च्या तुलनेने १४४.९७% वाढ झालेली आहे.

८.१.३ सन २०१५ मध्ये रुपये ४५३३८९.५ लाख रु. किमतीची मालमत्ता चोरीस गेली. त्यापैकी २३२००.७ लाख रुपयांची मालमत्ता हस्तगत करण्यात आली. सदर हस्तगत केलेल्या मालमत्तेची टक्केवारी मागील वर्षी हस्तगत केलेल्या मालमत्तेच्या टक्केवारी पेक्षा २५.०३ % ने जास्त आहे.

८.१.४ सन २०१५ मधील मालमत्ता हस्तगत करण्याचे प्रमाण ५.१२% इतके असून सन २०१४ मध्ये ते १०.५१% एवढे होते. सन २०११ ते २०१५ या कालावधी मध्ये, सन २०११ मध्ये मालमत्ता हस्तगत करण्याचे प्रमाण सर्वात जास्त म्हणजे १२.११% तर सन २०१२ मध्ये ते प्रमाण सर्वात कमी म्हणजे १.६२% आहे.

घटक निहाय माहिती

८.२.१ सन २०१५ मध्ये राज्यातील घटक-निहाय चोरीस गेलेली एकूण मालमत्ता व हस्तगत केलेली मालमत्ता यांची टक्केवारी तक्ता. क्र. ३६ मध्ये दिलेली आहे. मुबंई शहरातून सर्वात जास्त किंमतीची ३०२२०४.९ लाखाची मालमत्ता चोरीस गेली असून त्याखालोखाल पुणे शहर ३६५२२.६ लाख, नवी मुंबई ३४४६२.५ लाख, नाशिक शहर ७४८०.८ लाख व सांगली ७०४७.३ यांचा क्रम आहे.

सन २०१५ सालात रायगड मध्ये पोलिसांनी चोरीस गेलेल्या एकूण मालमत्तेपैकी किंमत रुपये ७०१.८ लाख किंमतीची (घटकातून चोरीस गेले मालमत्तेपैकी ४९.१८%) मालमत्ता हस्तगत करुन राज्यात प्रथम क्रमांक मिळविला आहे.राज्यात चोरीस गेलेल्या एकूण मालमत्तेपैकी मुंबई शहरातून ६६.६५% किंमतीची मालमत्ता चोरीस गेल्याचे निदर्शनास येते. त्याचप्रमाणे राज्यातील एकूण हस्तगत मालमत्तेपैकी मुंबई शहर पोलिसांनी २७.६६ % मालमत्ता हस्तगत केलेली आहे.

CHAPTER – 8

Property Stolen, Recovered And Place Of Occurrence

Value of Property Stolen & Recovered in Maharashtra State

8.1.1 The details of value of property stolen and subsequently recovered along with the percentage of recovery during the years 2011 to 2015 is presented in Table No. 35. The fluctuation over the last three years is also shown in this table.

8.1.2 During the year 2015 property worth Rs. 453389.5 Lakhs has been stolen in the State. This was 54.00 %. more than that of 2014 and 144.97% more as compared to 2011

8.1.3 Property worth Rs. 453389.5 Lakhs has been stolen during 2015 as against property recovered was 23200.7 Lakhs. The percentage of property recovered shows 25.03% increase as compared to the previous year.

8.1.4 The percentage of property recovered during the year 2015 was 5.12% as against 10.51% during the year 2014. During the period 2011 to 2015 the highest property recovery percentage was 12.11% during the year 2011 and 1.62% is the lowest during the year 2012.

Unit-wise Information

8.2.1 Unit-wise details regarding the value of property stolen and recovered and also the percentage of recovery during 2015 is shown in Table No. 36. Mumbai(C) share towards the property stolen was the highest i.e. Rs.302204.9 Lakhs followed by Pune(C)36522.6 Lakhs., Navi Mumbai (C) 34462.5 Lakhs, , Nashik (C) 7480.8 lakhs and Sangli 7047.3 Lakhs.

During 2015, Raigad, Police was able to achieve maximum recovery of property worth Rs. 701.8 Lakhs (i.e. 49.18% of stolen property in Unit) thereby ranking first in the State. Out of the total property stolen in the State, Mumbai (C) had a share of 66.65% and Mumbai (C), police has recovered 27.66% property against total recovered property in the state.

आलेख क्र. ८.१

सन २०११ ते २०१५ मधील चोरीस गेलेल्या व हस्तगत केलेल्या मालमत्तेच्या किमतीची माहिती

Chart No. 8.1

Value Of Property Stolen And Recovered During 2011 - 2015

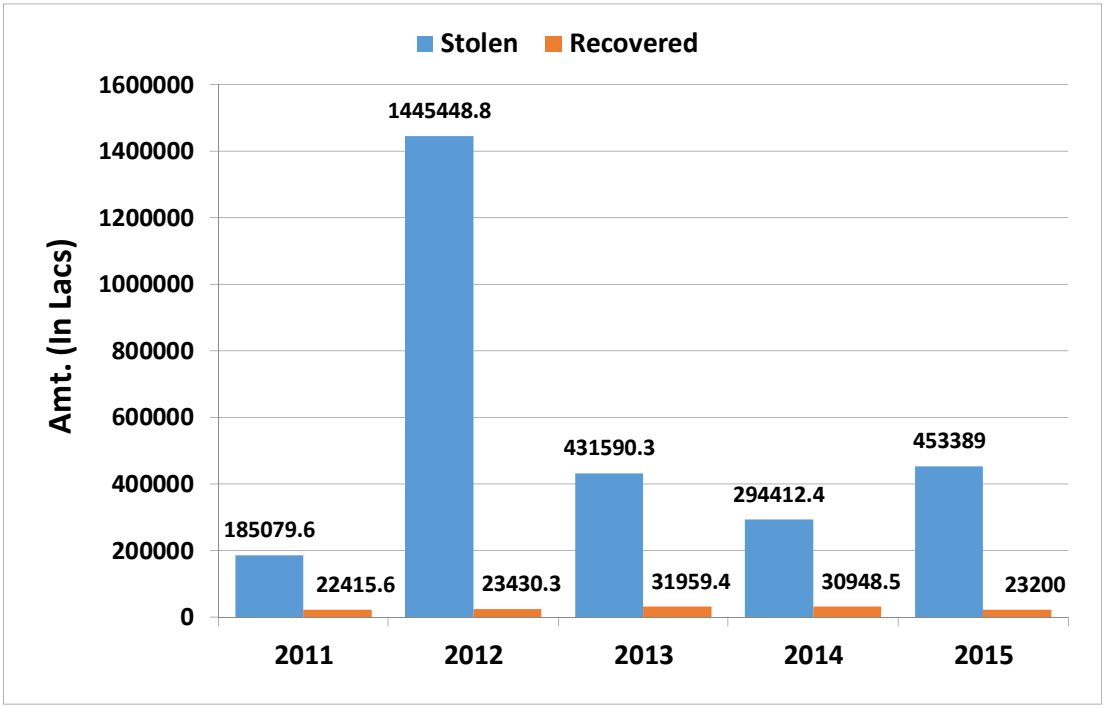

आलेख क्र. ८.२

सन २०१५ मधील घटक-निहाय चोरीस गेलेल्या मालमत्तेची टक्केवारी

Chart No. 8.2

Unit-Wise Percentage Contribution To The Value Of Property Stolen During 2015

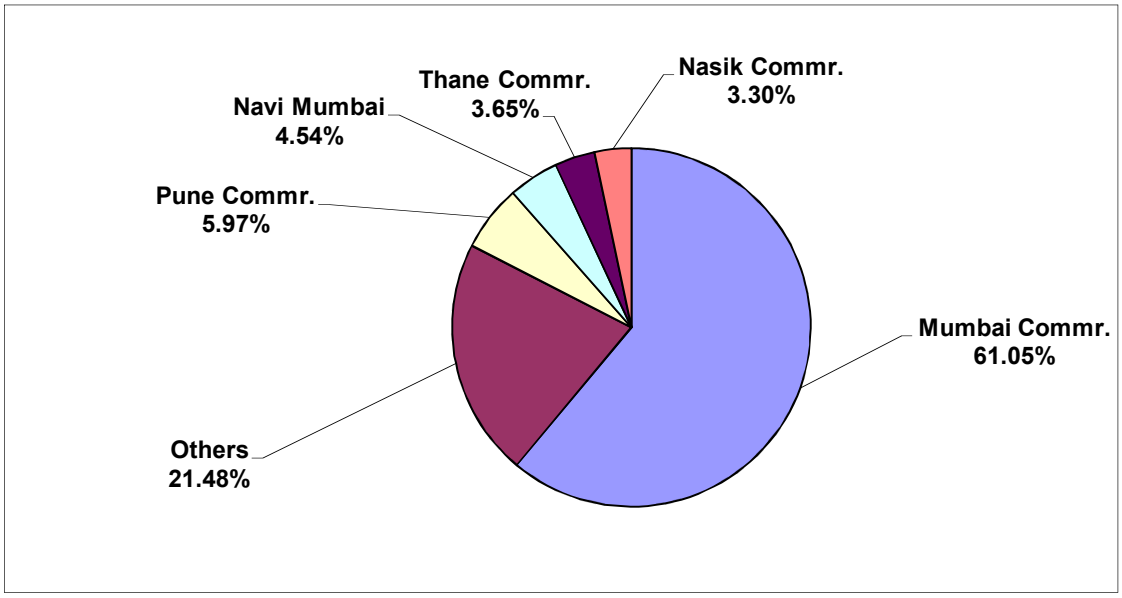

राज्यातील वेगवेगळया गुन्हयांमध्ये चोरीस गेलेल्या व हस्तगत केलेल्या मालमत्तेच्या मूल्याबाबत विश्लेषणात्मक माहिती

८.३.१ सन २०१५ मध्ये राज्यातील विविध प्रकाराचे गुन्हयांमध्ये चोरीस गेलेली मालमत्ता व हस्तगत केलेली मालमत्ता यांची किंमत व टक्केवारी याबाबतची माहिती तक्ता क्र.३७ मध्ये दिलेली आहे. मालमत्ते विषयीच्या गुन्हयांचे, दरोडा, जबरी चोरी, घरफोडी, चोरी, अन्यायाने विश्वासघात, इतर प्रकारच्या मालमत्तेचे गुन्हे असे वर्गीकरण करण्यात आलेले आहे. त्यापैकी चोरी या शीर्षाखाली गुन्ह्यांची संख्या ६०५३६ आहे व त्यामध्ये चोरीस गेलेल्या मालाची किंमत रुपये ५०२१९.८ लाख आहे. दरोडयाचे ७८४ गुन्ह्यांमध्ये चोरीस गेलेल्या मालाची किंमत रुपये ४७२४.७ लाख आहे. सन २०१५ मध्ये दरोडयाचे गुन्हे उघडकीस आणण्याचे प्रमाण ६६.९६% असून त्यात हस्तगत केलेल्या मालमत्तेचे प्रमाण ३८.३१% एवढे आहे. हस्तगत केलेल्या मालमत्तेचा विचार करता "इतर प्रकारच्या मालमत्ता" या गुन्हयांमध्ये १.०२% सर्वात कमी माल हस्तगत करण्यात आलेली आहे.

राज्यात सर्वात जास्त मालमत्तेचा अपहार 'इतर प्रकारच्या मालमत्ता' (रु. ३६८७२८.१ लाख) या गुन्हे शीर्षाखाली असून हस्तगत केलेल्या मालाचे प्रमाण १.०२% आहे.

Analysis of value of stolen and recovered property vis-a-vis various types of offences in the State.

8.3.1 Table No. 37 shows the value of stolen and recovered property vis-a-vis various types of offences in the State during 2015. Property offences are classified into six categories, viz. Dacoity, Robbery, Thefts, Burglary, Criminal Breach of Trust and Other kinds of property offences. Out of them, 60536 offences of Theft have been registered and property stolen under this head was to the tune of Rs. 50219.8 Lakhs. In 784 incidents of dacoity, stolen property was worth Rs. 4724.7 Lakhs. During the year 2015 the percentage of detection of dacoity cases was 66.96% and the percentage of recovery of property was 38.31%. Under the head 'Other kinds of property offences' the percentage of recovery of property is only 1.02%, which is the lowest.

In the State, highest property misappropriated (Rs.368728.1.lakhs) under the head of 'Other kinds of Property offences'. The percentage of recovery of property is 1.02 %.

आलेख क्र. ८.३

सन २०१५ मधील विविध प्रकारच्या गुन्हे शीर्षाखाली चोरीस गेलेल्या मालमत्तेची टक्केवारी

Chart No. 8.3

Percentage Distribution Of Stolen Property Under Different Crime Heads During 2015

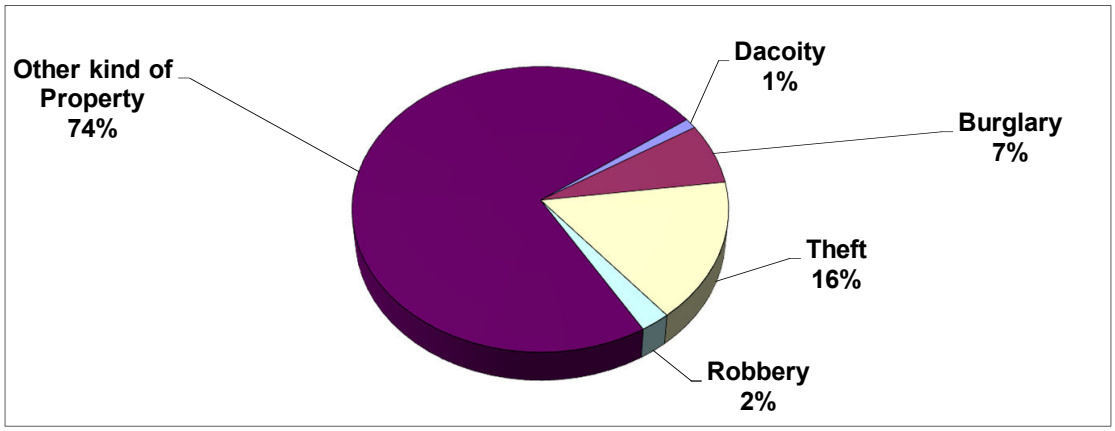

आलेख क्र. ८.३ (अ)

सन २०१५ मधील विविध प्रकारच्या गुन्हे शीर्षाखाली हस्तगत मालमत्तेची टक्केवारी (गुन्हेशीर्षानुसार)

Chart No.8.3 (A)

Crime Head-Wise Percentage Distribution Of Recovered Property Under Different Crime Heads During 2015

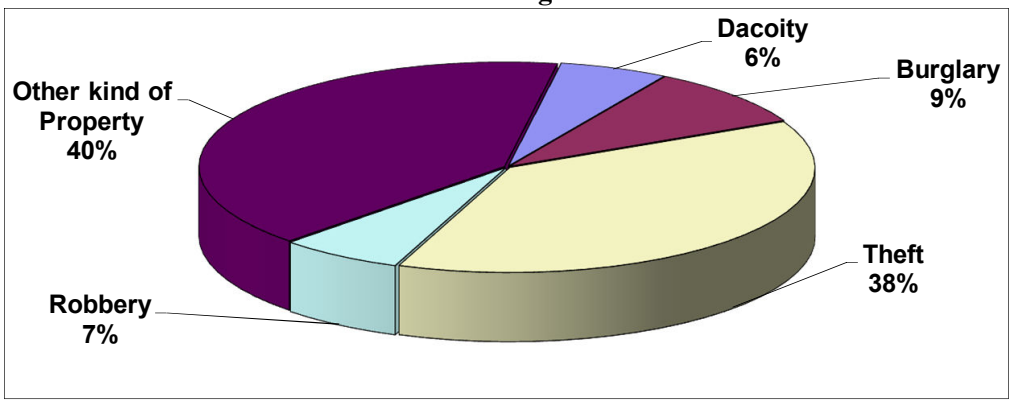

राज्यातील चोरीस गेलेल्या व हस्तगत केलेल्या मालमत्तेचे मालमत्तेच्या स्वरुपाप्रमाणे विश्लेषण (गुन्हे संख्या व किंमत)

८.४.१ चोरीस गेलेल्या मालमत्तेची त्यांचे स्वरुपाप्रमाणे १) दूरध्वनी व वीजवाहक तार २) जनावरे ३) सायकल ४) मोटार वाहने (दुचाकी स्वयंचलित वाहने, मोटरकार जीप्स व इतर मोटार वाहनांसह) ५) अग्निशस्त्र ६) दारुगोळा ७) इलेक्ट्रॉनिक्स उपकरणे ८) सांस्कृतिक मालमत्ता (पुरातन वस्तूसह) व ९) इतर प्रकारच्या मालमत्ता असे वर्गीकरण करण्यात आलेले आहे. स्वरुपाप्रमाणे चोरीस गेलेली / अपहृत केलेली व हस्तगत केलेली मालमत्ता व सदर मालमत्तेची टक्केवारी यांची माहिती तक्ता क्र.३८ मध्ये दिलेली आहे. इतर मालमत्तेमध्ये चोरीस गेलेल्या / अपहृत केलेल्या मालाची सर्वात जास्त किमंत रु. ४२७३५१ लाख एवढी आहे. तसेच हस्तगत केलेल्या मालमत्तेची किंमत देखील "चोरी" याप्रकारात सर्वात जास्त म्हणजे १८३८७.१ लाख रुपये इतकी आहे. "इतर मालमत्ता" या शीर्षाखालील उघडकीस आणलेल्या गुन्हयांचे प्रमाण व हस्तगत केलेल्या मालाच्या किंमतीची टक्केवारी अनुक्रमे ३७.०० % व ४.३० % एवढी आहे.

Nature of Stolen and Recovered Property:- Incidences and Value

8.4.1 The nature of property stolen and recovered has been classified into nine different categories viz. 1) Telephone and Electric wire 2) Cattle 3) Cycle 4) Motor vehicles (including motor cycles/scooters, motor cars/Taxi/jeep and other motor vehicles), 5) Fire Arms 6) Explosives 7) Electronic Equipments, 8) Cultural Property (including antiques) and 9) "Other kinds" of property. The details of cases and value of property stolen / misappropriated and recovered along with percentage of recovery during 2015 is shown in Table No. 38. Maximum loss of property worth Rs. 427351 Lakhs occurred under the head OTHER KINDS OF PROP. OFFENCES. Maximum property recovered worth Rs.18387.1 Lakhs was also found in THEFT. The percentage of cases detected and property recovered in "Other Kind of Property" was 37.00% and 4.30% respectively.

राज्यातील चोरीस गेलेली व हस्तगत केलेली सांस्कृतिक मालमत्ता बाबतची माहिती (गुन्हे संख्या व किंमत)

८.५.१ सन २०१५ मध्ये राज्यात या शीर्षांखाली एकही गुन्हा दाखल झालेला नाही.

Cultural property stolen and recovered in the State (incidences and value)

8.5.1 During the year 2015 there was no offence registered under this head.

राज्यातील गुन्हेसंख्या, गुन्हे घडण्याची ठिकाणे व त्यामध्ये चोरीस गेलेली, मालमत्ता याबाबत विश्लेषणात्मक माहिती.

८.६.१ २०१५ मध्ये राज्यात दरोडा, जबरीचोरी, घरफोडी आणि चोरी या शीर्षाखाली चोरीस गेलेल्या मालमत्तेची माहिती तक्ता क्रमांक ३९ मध्ये दिली आहे. या चार मुख्य शीर्षाचे घटनास्थळाप्रमाणे पुन्हा आठ प्रकारात उदा. निवासस्थान, हमरस्ता, नदी व समुद्र, रेल्वे, बँक, व्यापारी संकुल आणि इतर ठिकाणे असे वर्गीकरण करण्यात आले आहे.

राज्यात २०१५ मध्ये मालमत्ता चोरीस गेलेले गुन्हे ६११२८ असून त्यात चोरीस गेलेली मालमत्ता रु. ५३५८९ लाख आहे. घटनास्थळा प्रमाणे विचार करता सर्वात जास्त मालमत्ता "इतर ठिकाणे" या सदराखाली (रु. ३२४२८.४ लाख) चोरीस गेलेली असून एकूण गेलेल्या मालमत्तेपैकी सदर मालमत्तेचे प्रमाण ६०.५१ % आहे.

निवासस्थानाविषयी घडलेल्या गुन्हयांबाबत चोरीस गेलेली मालमत्ता ८२३६.३ लाख रु. ची असून चोरीस गेलेल्या एकूण मालमत्तेच्या १५.३७% आहे.

Premises / Places of occurrence incidences and value of property stolen in the State.

8.6.1 The information relating to number of cases and value of property stolen under 'Dacoity' , 'Robbery', 'Burglary' and 'Theft' at various premises during the year 2015 is shown in Table No. 39. These premises are classified into eight categories viz. 'Residential premises' , 'Highways' , 'Rivers and Sea' , 'Railways' , 'Banks', 'Commercial Establishments' and 'Other Places .

During the year 2015 State recorded 61128 cases involving loss of property worth Rs. 53589 Lakhs. Maximum property has been stolen under the head "Other Places" (Rs.32428.4 Lakhs) accounting for 60.51% of value of all stolen property in the State.

Property stolen from 'Residential Premises' during the year 2015 was Rs.8236.3 Lakhs, which is 15.37 % of total property stolen.

८.७.१ सन २०१५ साली राज्यातील घटक-निहाय गुन्हयांची संख्या, चोरीस गेलेली मालमत्ता व गुन्हयाची ठिकाणे या बाबतची माहिती तक्ता क्र.४० ते ४३ मध्ये दिलेली आहे.

8.7.1 Unit-wise information regarding the number of cases reported and value of property stolen with places of occurrence is shown in Table No. 40 to 43.

दरोडा

तक्ता क्र.४० चे अवलोकन करता, दरोडयाचे सर्वात जास्त ६३ गुन्हे अहमदनगर या घटकात दाखल असून त्याखालोखाल पुणे ग्रामीण ५०, मुबंई शहर ४८, पुणे शहर ४०, व सातारा ४० गुन्हे नोंदविलेले आहेत. त्यामध्ये अनुक्रमे १०५.६, १४०.१, ५५३.९, २९९.७, ६७.१ लाख रुपये इतकी मालमत्ता चोरीस गेली आहे. वरील ५ घटकांत मिळून दाखल झालेल्या दरोडयांच्या गुन्हयांचा हिस्सा राज्यातील एकूण दरोडयांच्या गुन्हयांच्या ३०.७४ % आहे. सन २०१५ मध्ये घडलेल्या दरोडयांच्या गुन्हयांची टक्केवारी घटनास्थळ-निहाय खाली दर्शविलेल्या आलेखाप्रमाणे आहे.

Dacoity

Table No. 40 reveals that the highest incidences of dacoities, i.e 63, have been reported from Ahmednagar followed by Pune (R) 50, Mumbai (C) 48, Pune (C) 40 and Satara 40 in which, property stolen is worth Rs. 105.6, 140.1, 553.9, 299.7, 67.1 Lakhs respectively. These Five Units together accounted for 30.74 % of total dacoity cases in the State. The percentage distribution of dacoity cases during 2015 categorised according to places of occurrences is shown in the following pie chart.

आलेख क्र. ८.४

सन २०१५ मधील दाखल दरोडयांच्या गुन्हयांच्या टक्केवारीचा हिस्सा (घटनास्थळ-निहाय)

Chart No. 8.4

Percentage Distribution Of Dacoity Cases Reported During 2015
(According To Places Of Occurrence)

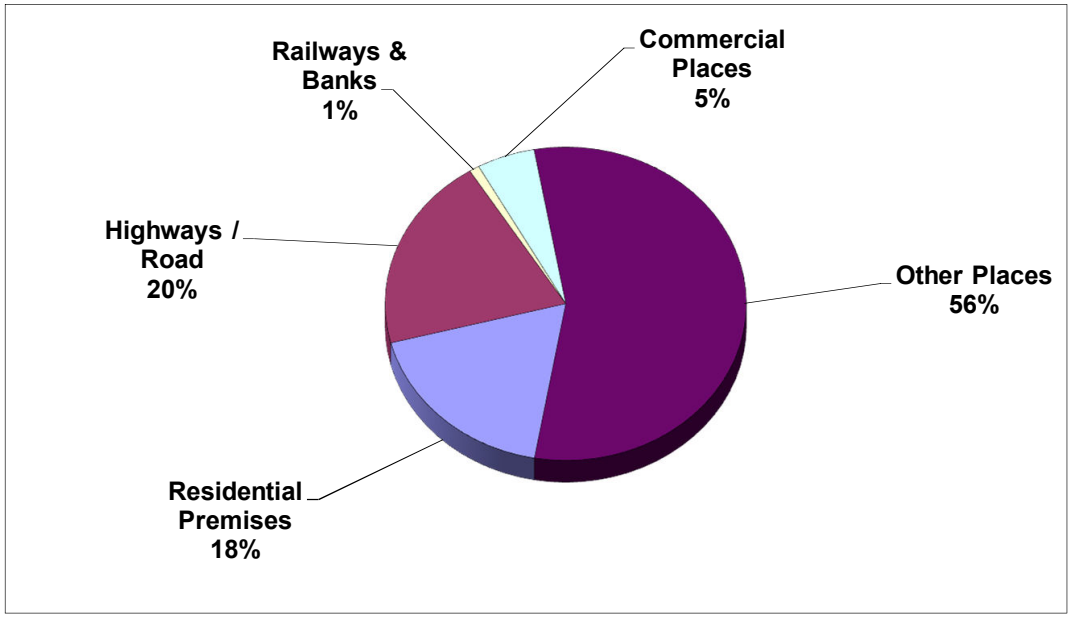

जबरी चोरी

८.८.१ यातील तक्ता क्र.४१ मध्ये सन २०१५ सालातील राज्यात घटक-निहाय घडलेले जबरी चोरीचे गुन्हे, त्यांची घटनास्थळे व चोरीस गेलेली मालमत्ता यांची माहिती देण्यात आलेली आहे. राज्यात एकूण ८५६१ जबरी चोरीचे गुन्हे घडलेले असून त्यामध्ये एकूण रु. ८७५१.६ लाखाची मालमत्ता चोरीस गेलेली आहे. सर्वात जास्त मुंबई शहरात १७०८ गुन्हे नोंद झाले असून, त्यामध्ये १८४४.८ लाख रुपयेची मालमत्ता चोरीस गेलेली आहे. राज्यात चोरीस गेलेल्या मालमत्तेपैकी २१.०८% मालमत्ता मुंबई शहरात चोरीस गेलेली आहे.

व्यापारी संकुलांच्या ठिकाणी घडलेल्या जबरी चोरीच्या एकूण २८० गुन्हयांपैकी, १४३ गुन्हे ठाणे शहरात दाखल असून त्यात रु. ४९.७ लाखाची मालमत्ता चोरीस गेली आहे. त्या खालोखाल, मुबंई शहर येथे २९ गुन्हे नोंद असून त्यात ५४.१ लाख रु.ची मालमत्ता चोरीस गेली आहे. पुणे शहर व सातारा या घटकामध्ये अनुक्रमे २० व १५ गुन्हे दाखल असून किंमत रु. १०४.४ व २.४ लाखाची मालमत्ता चोरीस गेली आहे. नाशिक शहर येथे १३ गुन्हे दाखल असून ४.९ लाखाची मालमत्ता चोरीस गेली आहे.

Robbery

8.8.1 Table No. 41 gives unit-wise information on the number of robbery cases reported and value of the property robbed at various places of occurrence in the State during 2015. 8561 robberies have been reported in the State & property worth of Rs. 8751.6 Lakhs has been stolen. The highest number of cases, i.e. 1708, have been reported in Mumbai (C) and property worth of Rs. 1844.8 Lakhs has been stolen, which is 21.08% of property stolen in the state.

Out of 280 cases of Robbery at 'Commercial Establishments', Thane (C) reported 143 cases in which the property stolen was worth Rs. 49.7 Lakhs, followed by Mumbai (C) 29 cases with property stolen worth Rs. 54.1 Lakhs. Pune (C) & Satara 20 & 15 cases & property stolen worth Rs. 104.4 & 2.4 Lakhs respectively. Nashik (C) reported 13 cases & Property stolen worth Rs. 4.9 Lakhs.

रेल्वे विभागामध्ये एकूण दाखल झालेल्या ६८८ गुन्हयांपैकी मुंबई रेल्वे घटकात सर्वात जास्त ५३१ जबरी चोरीचे गुन्हे दाखल झाले असून त्यात १४६.९ लाख रु. ची मालमत्ता चोरीस गेली आहे. राज्यामध्ये बँकेवरील जबरी चोरीचे ४ गुन्हा दाखल असून त्यामध्ये ९.५ लाख रु. ची मालमत्ता चोरीस गेली आहे. २०१५ मध्ये घडलेल्या जबरी चो-यांची टक्केवारी खाली दर्शविलेल्या आलेखाप्रमाणे आहे.

Out of the total (688) registered robberies in Railway Division, highest robberies have been reported (531) in Mumbai Rly. Unit with stolen property worth Rs.146.9 lakhs. State has registered (4) case under Bank Robbery in which Rs. 9.5 Lakh have been robbed.

The percentage distribution of Robberies during 2015 categorised according to places of occurrence is shown in the following Pie Chart

आलेख क्र. ८.५

सन २०१५ मधील घडलेल्या जबरी चोरीच्या गुन्हयाचा टक्केवारीचा हिस्सा (घटनास्थळ-निहाय)

Chart No.8.5

Percentage Distribution Of Robbery Cases Reported During 2015 (As Per Places Of Occurrence)

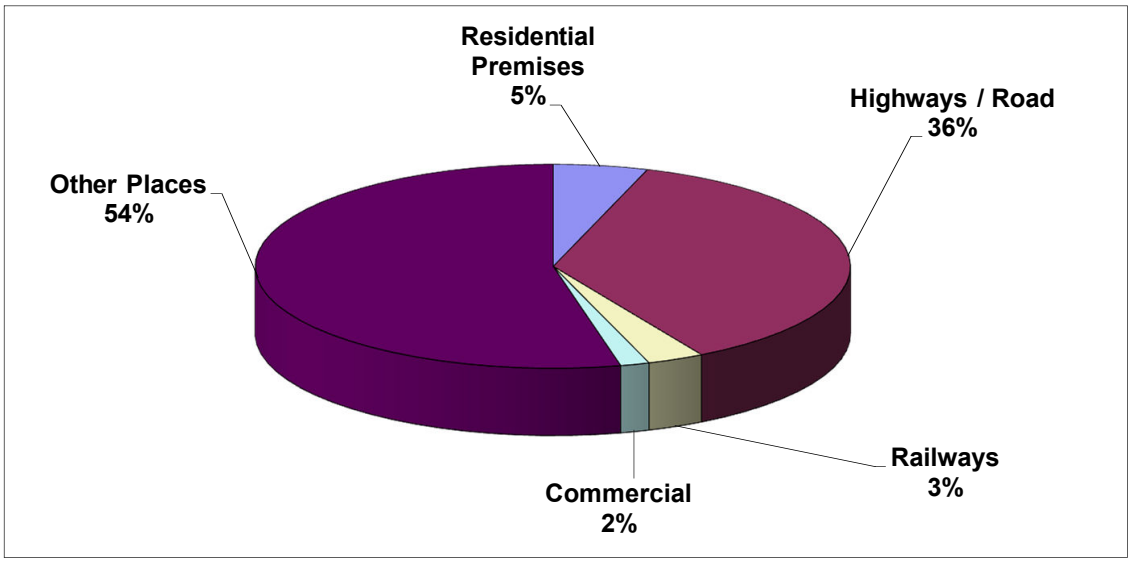

घरफोडी

८.९.१ राज्यातील घटक-निहाय दाखल असलेले एकूण घरफोडीचे गुन्हे, चोरीस गेलेली मालमत्ता व गुन्हयांची घटनास्थळे याबाबतची सन २०१५ सालाची माहिती तक्ता क्र. ४२ मध्ये दिलेली आहे. राज्यात एकूण १६५८१ गुन्हे घडलेले असून त्यामध्ये रु. २१७०० लाखाची मालमत्ता चोरीस गेलेली आहे. त्यापैकी, मुंबई शहरात ३०१० गुन्हे घडलेले असून त्यामध्ये रु. ६६१८.२ लाख रुपयांची मालमत्ता चोरीस गेलेली आहे. सर्वाधिक घरफोडीचे गुन्हे निवासस्थानातील आहेत. निवासस्थानाच्या घरफोडीचे १०९२१ गुन्हे दाखल झाले असून त्यामध्ये रु.११५९२.८ लाख रूपयांची मालमत्ता चोरीस गेली आहे.

Burglary

8.9.1 Table No. 42 shows unit-wise break-up of Burglary cases and value of property stolen according to places of occurrence during the year 2015, 16581 Burglaries have been reported in the State & property worth Rs.21700 Lakhs has been stolen. Mumbai (C) reported 3010 cases & property worth Rs. 6618.2 Lakhs has been stolen. Most of the Burglaries have occurred in residential premises. 10921 cases of such kind have been reported altogether and property worth Rs. 11592.8 Lakhs has been stolen.

व्यापारी संकुलांच्या ठिकाणी घडलेल्या एकूण घरफोडीचे गुन्हयांपैकी मुंबई शहर (७०५), पुणे शहर (१९४) , पालघर (१४५), ठाणे शहर (१३१) व जळगाव (११७) असे गुन्हे नोंदविण्यात आलेले असून त्यात अनुक्रमे रु. १८८०.५ लाख, ३३८.१ लाख, ३२३ लाख, ५८६.४ लाख व १०४.८ लाख रु. किंमतीची मालमत्ता चोरीस गेलेली आहे.

The largest number of Burglaries at 'Commercial Establishment' have been reported from Mumbai (C) (705), followed by Pune (C) (194) , Palghar (C) (145) and Thane (C) (131) & Jalgaon 117 with the loss of property worth Rs.1880.5 Lakhs, Rs.338.1 Lakhs, Rs.323 Lakhs Rs.586.4 Lakhs & Rs. 104.8 Lakhs respectively.

पोलीस आयुक्तालयांमध्ये दाखल एकूण घरफोडीचे गुन्हे पाहता ६५.८६% गुन्हे निवासस्थानातील घरफोडयांचे आहे. मुंबई शहरात सर्वात जास्त निवासस्थानातील घरफोडया १८६३ दाखल झाल्या असून त्या खालोखाल ठाणे शहर (९३७), पुणे शहर (८८५) व नागपूर शहर (४७५) येथे गुन्हे दाखल झाले आहेत. यामध्ये अनुक्रमे ३७०२.९ लाख, ८६२.६ लाख, ११४१.६ लाख व २५५.८ लाख रुपयांची मालमत्ता चोरीस गेलेली आहे. निवासस्थानी घडलेल्या घरफोडीचे गुन्हयांमध्ये चोरीस गेलेल्या एकूण मालमत्तेच्या ५१.४४% म्हणजे ५९६२.९ लाख रुपये एवढी मालमत्ता या चार घटकांत चोरीस गेलेली आहे. घरफोडीच्या गुन्हयांची घटनास्थळ-निहाय टक्केवारीतील हिस्सा खालील आलेखामध्ये दर्शविलेला आहे.

Out of total Burglaries reported in Commisionerates, 65.86% Burglaries have been recorded in Residential Premises. Mumbai (C) recorded the highest number of Burglaries at Residential Premises 1863, followed by Thane (C) (937), Pune (C) (885) and Nagpur (C) (475) and property worth Rs. 3702.9 Lakhs, 862.6 Lakhs, 1141.6 & 255.8 Lakhs has been stolen respectively, which is 51.44 % (Rs. 5962.9 Lakhs) of the total value of property stolen from Residential Premises in these four units. Percentage-wise distribution of Burglary cases reported as per places of occurrence is shown in the following Pie-Chart.

आलेख क्र. ८.६

सन २०१५ मधील घरफोडी गुन्हयांच्या टक्केवारीचा हिस्सा (घटनास्थळ-निहाय)

Chart No. 8.6

Percentage Distribution Of Burglary Cases Reported During 2015 (As Per Places Of Occurrence)

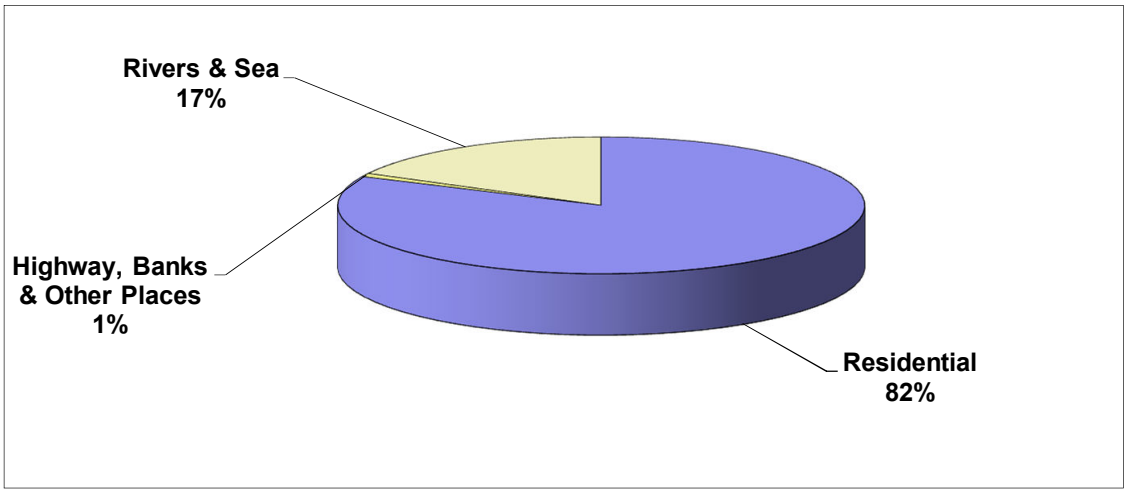

चोरी

८.१०.१ सन २०१५ मधील राज्यातील घटक-निहाय चोरीचे गुन्हे, गुन्हयांची ठिकाणे व चोरीस गेलेली मालमत्ता याचे वर्गीकरण तक्ता क्र. ४३ मध्ये दर्शविण्यात आले आहे .

Theft

8.10.1 Unit-wise information of theft cases reported and the value of property stolen according to categorized places of occurrence during 2015 is shown in Table No.43.

राज्यात एकूण ६११२८ चोरीचे गुन्हे दाखल झाले असून त्यामध्ये रु. ५३५८९.१ लाखाची मालमत्ता चोरीस गेलेली आहे. मुंबई शहर सर्वात जास्त म्हणजे १०४२२ गुन्हे घडलेले असून त्यामध्ये ११२७१.१ लाख रुपयांची मालमत्ता चोरीस गेलेली असून ती राज्याच्या २१.०३ % आहे. व्यापारी संकुलांच्या ठिकाणी २९७८, रेल्वेमध्ये २६९२ व महामार्गावर ८९०० चोरीचे गुन्हे दाखल आहेत. व्यापारी संकुलांच्या ठिकाणी घडलेल्या चोरीच्या (२५९३) गुन्हयांपैकी, मुंबई शहरात सर्वात जास्त (६२७) गुन्हे नोंद झाले असून त्याखालोखाल ठाणे शहर (४१९), पुणे शहर (३२०), अमरावती ग्रामीण (२३५) व नाशिक शहर (१४४) असे गुन्हे नोंद झाले आहेत. मुंबई शहरात चोरीस गेलेल्या मालमत्तेची किंमत रु. १३८०.३ लाख, ठाणे शहरामध्ये रु. २२७.१ लाख, त्याखालोखाल पुणे शहर रु. १७७.६ लाख, अमरावती ग्रामीण रु. ७.८ लाख, नाशिक शहर रु. ६१ लाखाची मालमत्ता चोरीस गेलेली आहे.

Total 61128 theft cases have been reported in the State & property of Rs. 53589.1 Lakhs has been stolen. 10422 cases have been reported in Mumbai (C) and property worth Rs. 11271.1 Lakhs has been stolen, which is 21.03% of the total of the State. A significant number of cases have been also reported at 'Commercial Establishments' 2978, Railways 2692 and Highways 8900. Out of 2593 theft cases at 'Commercial Establishments', Mumbai (C) recorded the highest number of Theft cases 627 followed by Thane (C) 419, Pune (C) 320, Amravati (R) 235, Nashik (C) 144. Property stolen from Mumbai (C) is to the tune of Rs.1380.3 Lakhs and Thane (C) 227.1 Lakhs respectively, followed by Pune (C) Rs. 177.6 Lakhs, Amravati (R) Rs.7.8 Lakhs & Nasik (C) Rs. 61 Lakhs.

सर्वाधिक म्हणजे १०९७१ चोरीचे गुन्हे निवासस्थानात घडलेले आहेत. चोरीच्या गुन्ह्यांच्या घटनास्थळाच्या टक्केवारीतील हिस्सा खालील आलेखामध्ये दर्शविलेला आहे.

The highest number of theft cases (10971) have been commited at Residental places. Percentage distribution of Theft cases reported as per places of occurrence is shown in the following Pie-Chart.

आलेख क्र. ८.७

सन २०१५ मधील चोरीच्या गुन्हयांच्या टक्केवारीचा हिस्सा (घटनास्थळ निहाय)

Chart No.8.7

Percentage Distribution Of Theft Cases Reported During 2014 (As Per Places Of Occurrence)

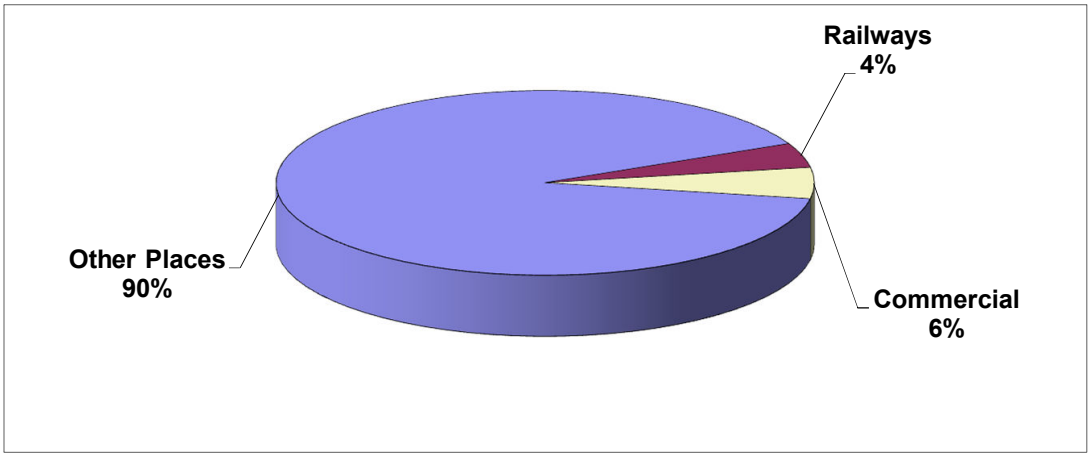

वाहन चोरी

८.११.१ राज्यातील सन २०१५ सालात एकूण चोरीस गेलेली वाहने व मिळालेली वाहने यांची घटक-निहाय माहिती तक्ता क्रमांक ४४ मध्ये दिली आहे. राज्यात सन २०१५ मध्ये २१६४८ वाहने चोरीस गेली असून ५२५० वाहने हस्तगत करण्यात आली असून हे प्रमाण २४.२५% आहे.

Vehicle Theft

8.11.1 Unit-wise information regarding Vehicles stolen and Recovered / Abandaned during 2015 is shown in Table No. 44. Total 21648 vehicles have been stolen, 5250 vehicles have been recovered, which constitutes 24.25%.

तक्ता क्र. ३५

सन २०११-२०१५ मधील एकूण चोरीस गेलेल्या व हस्तगत केलेल्या मालमत्तेची किंमत हस्तगत केलेल्या मालमत्तेच्या टक्केवारीसह
(रु. लाखामध्ये)

Table No. 35

Value Of Property Stolen & Recovered And Percentage Of Recovery During 2011-2015
(Rs. In Lakhs)

Sr. No.	Year	Total Value of Property		Percentage Of Recovery
		Stolen	Recovered	
1	2	3	4	5
1	2011	185079.6	22415.6	12.11
2	2012	1445448.8	23430.3	1.62
3	2013	431590.3	31959.4	7.41
4	2014	294412.4	30948.5	10.51
5	2015	453389.5	23200.7	5.12
6	PERCENTAGE CHANGE DURING 2015 as compared to 2011	144.97	3.50	
7	PERCENTAGE CHANGE DURING 2015 as compared to 2014	54.00	-25.03	

तक्ता क्र. ३६

सन २०१५ मधील घटक-निहाय एकूण चोरीस गेलेल्या व हस्तगत केलेल्या मालमत्ता यांची किंमत व टक्केवारी (रु. लाखामध्ये)

Table No. 36

Unit-Wise Details Of Value Of Property Stolen & Recovered And Percentage Recovery During 2015 (Rs. In Lakhs)

Sr. No	UNIT	Total Value Of Property		Percentage Of Recovery
		Stolen	Recovered	
1	2	3	4	5
1	Akola	462.5	96.6	20.89
2	Amravati Rural	668.6	76.1	11.38
3	Buldhana	3242.6	109	3.36
4	Yavatmal	1824.4	728.3	39.92
5	Washim	281.1	30	10.67
*	**Amravati Range**	**6479.2**	**1040**	**16.05**
6	Aurangabad Rural	1365.7	237	17.35
7	Jalna	354.2	151.9	42.89
8	Beed	2244.9	136.8	6.09
9	Osmanabad	887.6	117.3	13.22
*	**Aurangabad Range**	**4852.4**	**643**	**13.25**
10	Nanded	704.6	131.4	18.65
11	Latur	674.4	191.4	28.38
12	Parbhani	1941.5	190.3	9.80
13	Hingoli	261.8	75.2	28.72
*	**Nanded Range**	**3582.3**	**588.3**	**16.42**
14	Kolhapur	1235.2	286.5	23.19
15	Pune Rural	4469.2	692.8	15.50
16	Sangli	7047.3	777	11.03
17	Satara	1350.5	457.7	33.89
18	Solapur Rural	3387.3	994.2	29.35
*	**Kolhapur Range**	**17489.5**	**3208.2**	**18.34**
19	Bhandara	259.2	73.3	28.28
20	Chandrapur	1120.8	102.6	9.15
21	Nagpur Rural	742.3	295.1	39.75
22	Wardha	458.9	58.8	12.81
*	**Nagpur Range**	**2581.2**	**529.8**	**20.53**
23	Gadchiroli	104.7	6.4	6.11
24	Gondia	540.2	179.8	33.28
*	**Gadchiroli Range**	**644.9**	**186.2**	**28.87**
25	Ahmednagar	1915.8	397.4	20.74
26	Dhule	549.9	174.8	31.79
27	Jalgaon	2827	458.6	16.22
28	Nasik Rural	4489	756.8	16.86
29	Nandurbar	1696	26.9	1.59
*	**Nasik Range**	**11477.7**	**1814.5**	**15.81**
30	Raigad	1426.5	701.6	49.18
31	Ratnagiri	732.4	106.5	14.54
32	Sindhudurg	757.9	34.9	4.60
33	Thane Rural	1505	325.1	21.60
34	Palghar	3424.9	936.3	27.34
*	**Thane Range**	**7846.7**	**2104.4**	**26.82**
35	Mumbai Railway	1432.4	393.4	27.46
36	Pune Railway	361.6	36.4	10.07
37	Nagpur Railway	1115.6	59.4	5.32
*	**Railway Range**	**2909.6**	**489.2**	**16.81**
38	Nagpur Commr.	6981	626.6	8.98
39	Pune Commr.	36522.6	1643.2	4.50
40	Thane Commr.	5647.1	968.4	17.15
41	Mumbai Commr.	302204.9	6418.1	2.12
42	Nasik Commr.	7480.8	719.7	9.62
43	Aurangabad Commr.	1156.4	271.1	23.44
44	Solapur Commr.	493.6	94.5	19.15
45	Navi Mumbai	34462.5	1697.5	4.93
46	Amravati Commr.	577.1	158	27.38
*	**Total Commrs.**	**395526**	**12597.1**	**3.18**
**	**Total**	**453389.5**	**23200.7**	**5.12**

तक्ता क्र. ३७

सन २०१५ मधील विविध प्रकाराचे गुन्हयांमध्ये चोरीस गेलेल्या मालमत्ता व हस्तगत केलेल्या मालमत्ता यांची किंमत व टक्केवारी (गुन्हे शीर्षानुसार)

TABLE NO. 37

Value Of Property Stolen And Recovered & Percentage Recovery During 2015 [Crime Head - Wise]

Sr. No.	Crime Head	Number Of Cases In Which Property		Percentage Recovery Of Cases	Value Of Property (in lakh)		Percentage Recovery (Value)
		Stolen	Recovered		Stolen	Recovered	
1	2	3	4	5	6	7	8
1	Dacoity	784	525	66.96	4724.7	1810.2	38.31
2	Burglary	16581	4506	27.18	21699.9	3063.4	14.12
3	Theft	60536	17712	29.26	50219.8	11955.1	23.81
4	Robbery	4799	3018	62.89	5723	2066.7	36.11
4.1	Chain Snatching	3582	1505	42.02	2047.8	512.8	25.04
4.2	Other Robbery	**317**	**113**	35.65	**246.2**	**29.4**	11.94
5	Other kind of Property	6482	2952	45.54	368728.1	3763.1	1.02
	Total Property Stolen / Recovered	**93081**	**30331**	**32.59**	**453389.5**	**23200.7**	**5.12**

तक्ता क्र. ३८

सन २०१५ मधील विविध प्रकाराचे गुन्हयांमध्ये चोरीस गेलेली मालमत्ता व हस्तगत केलेली मालमत्ता यांची किंमत व टक्केवारी
(मालमत्तेच्या स्वरुपाप्रमाणे)

TABLE NO. 38

Details Of Cases & Value Of Property Stolen & Recovered And Percentage Recovery During 2015 (As Per Nature Of Property)

Sr. No.	Nature Of Property	Number Of Cases In Which Property		Percentage Recovery Of Cases	Value Of Property (in lakh)		Percentage Recovery (Value)
		Stolen	Recovered		Stolen	Recovered	
1	2	3	4	5	6	7	8
1	Communication & Electricity Wire	480	102	21.3	249.9	28.2	11.28
2	Cattle	1078	400	37.1	396.2	108.8	27.46
3	Cycle	427	127	29.7	27.8	4.7	16.91
4	Motor Vehicles (Total)	21316	4953	23.2	21587.4	4006.2	18.56
4.1	Motor Cycles/Scooters	18167	4220	23.2	9802.1	1365.2	13.93
4.2-A	LMV/Car	1409	284	20.2	4520.8	974.6	21.56
4.2-B	LMV/Sport Utility(SUV)	37	7	18.9	105	20.7	19.71
4.2-C	LMV Others	240	57	23.8	854.9	213	24.92
4.3	Goods Carrying Vehicles(Truck etc)	738	181	24.5	5406.1	1123.1	20.77
4.4	Public Transport(Bus)	10	3	30.0	145.4	14	9.63
4.5	Three Wheeler(Auto etc)	610	176	28.9	406.7	147.4	36.24
4.6	Other Vehicles	105	25	23.8	346.4	148.1	42.75
5	Fire Arms	20	11	55.0	16.5	5.9	35.76
5.1	Regular	10	6	60.0	7.5	5.7	76.00
5.2	Country Made	10	5	50.0	9	0.2	2.22
6	Explosives/Explosive Substances	0	0		0	0	-
7	Electric Component	11589	3216	27.8	3390.1	600.7	17.72
7.1	Mobile Phone(s)	8964	2792	31.1	2207.4	483.9	21.92
7.2	Laptop(s)	1675	204	12.2	715.7	62.1	8.68
7.3	Other Electronic Gadgets	950	220	23.2	467	54.7	11.71
8	Cultural Property	162	67	41.4	370.7	59.1	15.94
9	Other Kind of Property	58009	21455	37.0	427350.9	18387.1	4.30
	Total Property	**93081**	**30331**	**32.6**	**453389.5**	**23200.7**	**5.12**

तक्ता क्र. ३९

सन २०१५ मधील घटनास्थळ-निहाय दाखल झालेले गुन्हे, चोरीस गेलेल्या मालमत्तेची किंमत (रु. लाखामध्ये)

TABLE NO. 39

Sr. No.	Place Of Occurrence	Dacoity (Section 395, 396 &398 IPC)		Robbery (Section 392-394, 397, 398 IPC)		Criminal Trespass/Burglary (Section 457 to 460 IPC)		Theft (Section 379-382 IPC)	
		Number	Value	Number	Value	Number	Value	Number	Value
1	2	3	4	5	6	7	8	9	10
1	RESIDENTIAL PREMISES	136	429.1	561	404.6	10921	11592.5	10971	8236.3
2	HIGHWAYS/ROAD	131	1039.6	3121	2674.2	216	398.8	8900	7690.3
3	RIVER AND SEA	6	28.5	21	6.8	1	0.8	1018	697.1
4	RAILWAYS	11	74.3	358	134.7	3	0.5	2692	1652.3
5	RELIGIOUS PLACES	1	1.8	29	9.9	111	85.7	277	90.9
6	ATM	0	0	3	9.5	17	45.7	63	78.5
7	BANK	0	0	4	9.5	85	311.7	75	118.4
8	COMMERCIAL	40	90.7	280	692.9	2262	4082	2978	2596.8
9	OTHER PLACES	459	3060.8	4184	4809.6	2965	5182.3	34154	32428.4
	TOTAL	**784**	**4724.8**	**8561**	**8751.7**	**16581**	**21700**	**61128**	**53589.0**

तक्ता क्र. ४०

सन २०१५ मधील घटक-निहाय दाखल झालेले दरोडयाचे गुन्हे, चोरीस गेलेल्या मालमत्तेची किंमत (रु.लाखामध्ये) घटनास्थळ-निहाय

TABLE NO. 40

Unit-Wise Number Of Dacoity Cases Reported And Value Of Property Stolen As Per Place Of Occurrence During 2015 (Rs. In Lakhs)

Sr. No.	Unit	Residential Premises		Highways/Road		River & Sea	
		Number	Value	Number	Value	Number	Value
1	2	3	4	5	6	7	8
1	Akola	0	0	0	0.0	0	0
2	Amravati Rural	0	0	3	0.6	0	0
3	Buldhana	3	6.3	4	8.6	0	0
4	Yavatmal	1	8.3	1	0.1	0	0
5	Washim	3	1.8	2	0.2	0	0
*	**Amravati Range**	**7**	**16.4**	**10**	**9.5**	**0**	**0**
6	Aurangabad Rural	0	0	6	32.6	0	0
7	Jalna	2	1.5	0	0	0	0
8	Beed	4	0.3	5	4.4	0	0
9	Osmanabad	6	9.5	2	2.8	0	0
*	**Aurangabad Range**	**12**	**11.3**	**13**	**39.8**	**0**	**0**
10	Nanded	3	3.4	9	27.6	0	0
11	Latur	0	0	2	0.8	0	0
12	Parbhani	0	0	1	0.1	0	0
13	Hingoli	0	0	0	0	0	0
*	**Nanded Range**	**3**	**3.4**	**12**	**28.5**	**0**	**0**
14	Kolhapur	2	3.2	7	2.8	0	0
15	Pune Rural	0	0	5	12.8	0	0
16	Sangli	1	0	3	0.3	0	0
17	Satara	7	2.4	3	36.2	2	6.8
18	Solapur Rural	10	9.4	7	346.9	0	0
*	**Kolhapur Range**	**20**	**15**	**25**	**399**	**2**	**6.8**
19	Bhandara	0	0	0	0	0	0
20	Chandrapur	0	0	0	0	0	0
21	Nagpur Rural	2	10.4	1	0	0	0
22	Wardha	0	0	0	0	0	0
*	**Nagpur Range**	**2**	**10.4**	**1**	**0**	**0**	**0**
23	Gadchiroli	0	0	0	0	0	0
24	Gondia	0	0	0	0	0	0
*	**Gadchiroli Range**	**0**	**0**	**0**	**0**	**0**	**0**
25	Ahmednagar	38	76.9	5	3.9	0	0
26	Dhule	0	0	0	0	0	0
27	Jalgaon	2	0.4	5	2.8	0	0
28	Nasik Rural	5	4.7	6	15.4	0	0
29	Nandurbar	0	0	0	0	0	0
*	**Nasik Range**	**45**	**82**	**16**	**22.1**	**0**	**0**
30	Raigad	3	6.9	6	48.7	0	0
31	Ratnagiri	1	0	2	0.3	0	0
32	Sindhudurg	0	0	0	0	0	0
33	Thane Rural	4	4.2	2	9.7	0	0
34	Palghar	7	18.2	4	40.1	0	0
*	**Thane Range**	**15**	**29.3**	**14**	**98.8**	**0**	**0**
35	Mumbai Railway	0	0	0	0	0	0
36	Pune Railway	0	0	0	0	0	0
37	Nagpur Railway	0	0	0	0	0	0
*	**Railway Range**	**0**	**0**	**0**	**0**	**0**	**0**
38	Nagpur Commr.	1	5.3	1	0.3	0	0
39	Pune Commr.	6	6.8	19	67.4	0	0
40	Thane Commr.	4	0.6	5	2.8	0	0
41	Mumbai Commr.	14	208.5	13	253.7	4	21.7
42	Nasik Commr.	1	0	1	17.8	0	0
43	Aurangabad Commr.	4	39.6	0	0	0	0
44	Solapur Commr.	1	0.2	0	0	0	0
45	Navi Mumbai	1	0.3	1	100	0	0
46	Amravati Commr.	0	0	0	0	0	0
*	**Total Commrs.**	**32**	**261.3**	**40**	**442**	**4**	**21.7**
**	**Total of M.S**	**136**	**429.1**	**131**	**1040**	**6**	**28.5**

तक्ता क्र. ४० (चालु)

Table No. 40 (Continued)

Sr. No.	UNIT	Running Train		Religious Places		ATM	
		Number	Value	Number	Value	Number	Value
1	2	9	10	11	12	13	14
1	Akola	0	0	0	0	0	0
2	Amravati Rural	0	0	0	0	0	0
3	Buldhana	0	0	0	0	0	0
4	Yavatmal	0	0	0	0	0	0
5	Washim	0	0	0	0	0	0
*	**Amravati Range**	0	0	0	0	0	0
6	Aurangabad Rural	0	0	0	0	0	0
7	Jalna	0	0	0	0	0	0
8	Beed	0	0	0	0	0	0
9	Osmanabad	0	0	0	0	0	0
*	**Aurangabad Range**	0	0	0	0	0	0
10	Nanded	0	0	0	0	0	0
11	Latur	0	0	0	0	0	0
12	Parbhani	0	0	0	0	0	0
13	Hingoli	0	0	0	0	0	0
*	**Nanded Range**	0	0	0	0	0	0
14	Kolhapur	0	0	0	0	0	0
15	Pune Rural	0	0	0	0	0	0
16	Sangli	0	0	0	0	0	0
17	Satara	0	0	0	0	0	0
18	Solapur Rural	0	0	0	0	0	0
*	**Kolhapur Range**	0	0	0	0	0	0
19	Bhandara	0	0	0	0	0	0
20	Chandrapur	0	0	0	0	0	0
21	Nagpur Rural	0	0	0	0	0	0
22	Wardha	0	0	0	0	0	0
*	**Nagpur Range**	0	0	0	0	0	0
23	Gadchiroli	0	0	0	0	0	0
24	Gondia	0	0	0	0	0	0
*	**Gadchiroli Range**	0	0	0	0	0	0
25	Ahmednagar	0	0	1	1.8	0	0
26	Dhule	0	0	0	0	0	0
27	Jalgaon	0	0	0	0	0	0
28	Nasik Rural	0	0	0	0	0	0
29	Nandurbar	0	0	0	0	0	0
*	**Nasik Range**	0	0	1	1.8	0	0
30	Raigad	0	0	0	0	0	0
31	Ratnagiri	1	1	0	0	0	0
32	Sindhudurg	0	0	0	0	0	0
33	Thane Rural	0	0	0	0	0	0
34	Palghar	0	0	0	0	0	0
*	**Thane Range**	1	1	0	0	0	0
35	Mumbai Railway	2	71.9	0	0	0	0
36	Pune Railway	2	0.2	0	0	0	0
37	Nagpur Railway	6	1.2	0	0	0	0
*	**Railway Range**	10	73.3	0	0	0	0
38	Nagpur Commr.	0	0	0	0	0	0
39	Pune Commr.	0	0	0	0	0	0
40	Thane Commr.	0	0	0	0	0	0
41	Mumbai Commr.	0	0	0	0	0	0
42	Nasik Commr.	0	0	0	0	0	0
43	Aurangabad Commr.	0	0	0	0	0	0
44	Solapur Commr.	0	0	0	0	0	0
45	Navi Mumbai	0	0	0	0	0	0
46	Amravati Commr.	0	0	0	0	0	0
*	**Total Commrs.**	0	0	0	0	0	0
*	**Total of M.S**	11	74.3	1	1.8	0	0

तक्ता क्र ४० (पुर्ण)

Table No. 40 (Concluded)

Sr. No.	UNIT	Bank		Commercial Establishments (Shops Etc.)		Other Places		Total	
		Number	Value	Number	Value	Number	Value	Number	Value
1	2	15	16	17	18	19	20	21	22
1	Akola	0	0	0	0	3	14.1	3	14.1
2	Amravati Rural	0	0	0	0	7	60.9	10	61.4
3	Buldhana	0	0	2	0.6	0	0	9	15.6
4	Yavatmal	0	0	3	1.4	7	6.4	12	16.1
5	Washim	0	0	0	0	10	5.7	15	7.7
*	**Amravati Range**	0	0	5	2	27	87.1	49	114.9
6	Aurangabad Rural	0	0	1	0.5	22	33.7	29	66.8
7	Jalna	0	0	0	0	9	5.8	11	7.3
8	Beed	0	0	5	3.8	18	5.5	32	14
9	Osmanabad	0	0	3	0.8	7	5.5	18	18.6
*	**Aurangabad Range**	0	0	9	5.1	56	50.5	90	106.7
10	Nanded	0	0	0	0	1	0	13	31.1
11	Latur	0	0	0	0	14	46.6	16	47.4
12	Parbhani	0	0	1	0.4	1	0.2	3	0.6
13	Hingoli	0	0	0	0	9	14.2	9	14.2
*	**Nanded Range**	0	0	1	0.4	25	61	41	93.3
14	Kolhapur	0	0	0	0	9	8.5	18	14.6
15	Pune Rural	0	0	1	2.5	44	124.8	50	140.1
16	Sangli	0	0	0	0	10	43.2	14	43.5
17	Satara	0	0	1	1	27	20.7	40	67.1
18	Solapur Rural	0	0	0	0	13	51.9	30	408.2
*	**Kolhapur Range**	0	0	2	3.5	103	249.1	152	673.5
19	Bhandara	0	0	0	0	0	0	0	0
20	Chandrapur	0	0	0	0	5	4.1	5	4.1
21	Nagpur Rural	0	0	1	1	3	52.2	7	63.7
22	Wardha	0	0	0	0	2	0.2	2	0.2
*	**Nagpur Range**	0	0	1	1	10	56.5	14	68
23	Gadchiroli	0	0	0	0	4	3.7	4	3.7
24	Gondia	0	0	0	0	0	0	0	0
*	**Gadchiroli Range**	0	0	0	0	4	3.7	4	3.7
25	Ahmednagar	0	0	0	0	19	22.9	63	105.6
26	Dhule	0	0	0	0	21	15.8	21	15.8
27	Jalgaon	0	0	2	1	27	50.3	36	54.4
28	Nasik Rural	0	0	0	0	23	1740	34	1760.1
29	Nandurbar	0	0	0	0	2	0.2	2	0.2
*	**Nasik Range**	0	0	2	1	92	1829.2	156	1936.1
30	Raigad	0	0	1	49.5	0	0	10	105.1
31	Ratnagiri	0	0	1	0.2	0	0	5	1.4
32	Sindhudurg	0	0	0	0	1	0.4	1	0.4
33	Thane Rural	0	0	0	0	3	1.1	9	15.1
34	Palghar	0	0	2	1.1	11	14.3	24	73.7
*	**Thane Range**	0	0	4	50.8	15	15.8	49	195.7
35	Mumbai Railway	0	0	0	0	4	7.1	6	79
36	Pune Railway	0	0	0	0	3	1.1	5	1.3
37	Nagpur Railway	0	0	0	0	2	0.3	8	1.5
*	**Railway Range**	0	0	0	0	9	8.5	19	81.8
38	Nagpur Commr.	0	0	0	0	19	13.2	21	18.7
39	Pune Commr.	0	0	3	0.2	12	225.3	40	299.7
40	Thane Commr.	0	0	5	2.2	23	75.5	37	81.2
41	Mumbai Commr.	0	0	4	1.9	13	68.2	48	553.9
42	Nasik Commr.	0	0	2	0.2	6	1.2	10	19.3
43	Aurangabad Commr.	0	0	0	0	23	26.7	27	66.3
44	Solapur Commr.	0	0	0	0	8	13.8	9	13.9
45	Navi Mumbai	0	0	1	1.5	14	275.6	17	377.4
46	Amravati Commr.	0	0	1	20.9	0	0	1	20.9
*	**Total Commrs.**	0	0	16	26.9	118	699.5	210	1451.3
*	**Total of M.S**	0	0	40	90.7	459	3061	784	4725

तक्ता क्र. ४१

जबरी चोरी

सन २०१५ मधील घटक-निहाय जबरी चोरीचे गुन्हे, चोरीस गेलेल्या मालमत्तेची किंमत (रु. लाखामध्ये) घटनास्थळ-निहाय

Robbery

Unit-Wise Number Of Robbery Cases Reported And Value Of The Property Stolen As Per Place Of Occurrence During 2015 (Rs. In Lakhs)

Sr. No.	Unit	Residential Premises		Highways/Road		River & Sea	
		Number	Value	Number	Value	Number	Value
1	2	3	4	5	6	7	8
1	Akola	0	0	5	4.9	0	0
2	Amravati Rural	0	0	4	0.2	0	0
3	Buldhana	21	6.1	18	12	0	0
4	Yavatmal	3	1.3	18	3.9	0	0
5	Washim	14	6.4	3	1	0	0
*	**Amravati Range**	**38**	**13.8**	**48**	**22**	**0**	**0**
6	Aurangabad Rural	4	6.1	14	8.6	0	0
7	Jalna	26	4.6	4	6.5	0	0
8	Beed	15	8	12	20.6	0	0
9	Osmanabad	4	5.4	8	2.8	0	0
*	**Aurangabad Range**	**49**	**24.1**	**38**	**38.5**	**0**	**0**
10	Nanded	14	9.7	55	24.7	0	0
11	Latur	0	0	2	0.7	0	0
12	Parbhani	4	0.9	4	8.7	0	0
13	Hingoli	0	0	3	18	0	0
*	**Nanded Range**	**18**	**10.6**	**64**	**52.1**	**0**	**0**
14	Kolhapur	8	3.5	125	49.9	0	0
15	Pune Rural	0	0	14	44.6	0	0
16	Sangli	11	2.7	31	10.2	0	0
17	Satara	15	6.2	4	5	0	0
18	Solapur Rural	13	20.3	10	9.2	0	0
*	**Kolhapur Range**	**47**	**32.7**	**184**	**118.9**	**0**	**0**
19	Bhandara	0	0	2	0.6	0	0
20	Chandrapur	0	0	5	9.6	0	0
21	Nagpur Rural	1	0.8	11	7.3	0	0
22	Wardha	0	0	2	16.5	0	0
*	**Nagpur Range**	**1**	**0.8**	**20**	**34**	**0**	**0**
23	Gadchiroli	0	0	2	0	0	0
24	Gondia	5	3.8	13	4.9	0	0
*	**Gadchiroli Range**	**5**	**3.8**	**15**	**4.9**	**0**	**0**
25	Ahmednagar	71	34.2	104	92.9	0	0
26	Dhule	0	0	4	27.6	0	0
27	Jalgaon	5	8.7	74	22.8	0	0
28	Nasik Rural	10	4.2	33	83	0	0
29	Nandurbar	4	1.9	2	0.4	0	0
*	**Nasik Range**	**90**	**49**	**217**	**226.7**	**0**	**0**
30	Raigad	5	3.5	27	13.5	0	0
31	Ratnagiri	2	0.5	22	11.4	0	0
32	Sindhudurg	2	3.2	2	0.7	0	0
33	Thane Rural	68	78	2	0.7	0	0
34	Palghar	7	4	68	124.5	0	0
*	**Thane Range**	**84**	**89.2**	**121**	**150.8**	**0**	**0**
35	Mumbai Railway	0	0	0	0	0	0
36	Pune Railway	0	0	0	0	0	0
37	Nagpur Railway	0	0	0	0	0	0
*	**Railway Range**	**0**	**0**	**0**	**0**	**0**	**0**
38	Nagpur Commr.	6	5.3	43	10	0	0
39	Pune Commr.	89	59.6	355	339.9	0	0
40	Thane Commr.	39	19.3	509	345.7	18	6.6
41	Mumbai Commr.	49	47.8	1204	1165.8	3	0.2
42	Nasik Commr.	27	10.8	64	35	0	0
43	Aurangabad Commr.	7	3.3	3	0.7	0	0
44	Solapur Commr.	5	0.2	36	18.6	0	0
45	Navi Mumbai	6	33.3	196	110	0	0
46	Amravati Commr.	1	1	4	0.6	0	0
*	**Total Commrs.**	**229**	**180.6**	**2414**	**2026.3**	**21**	**6.8**
*	**Total of M.S**	**561**	**404.6**	**3121**	**2674.2**	**21**	**6.8**

तक्ता क्र. ४१ (चालू)

Table No. 41 (Continued)

Sr. No.	Unit	Running Train		Religious Places		ATM	
		Number	Value	Number	Value	Number	Value
1	2	9	10	11	12	13	14
1	Akola	0	0	0	0	0	0
2	Amravati Rural	0	0	0	0	0	0
3	Buldhana	0	0	0	0	1	9
4	Yavatmal	0	0	0	0	0	0
5	Washim	0	0	0	0	0	0
*	**Amravati Range**	**0**	**0**	**0**	**0**	**1**	**9**
6	Aurangabad Rural	0	0	0	0	0	0
7	Jalna	0	0	0	0	0	0
8	Beed	0	0	0	0	0	0
9	Osmanabad	0	0	0	0	0	0
*	**Aurangabad Range**	**0**	**0**	**0**	**0**	**0**	**0**
10	Nanded	0	0	0	0	0	0
11	Latur	0	0	0	0	0	0
12	Parbhani	0	0	0	0	0	0
13	Hingoli	0	0	0	0	0	0
*	**Nanded Range**	**0**	**0**	**0**	**0**	**0**	**0**
14	Kolhapur	0	0	0	0	0	0
15	Pune Rural	0	0	0	0	0	0
16	Sangli	0	0	1	0.1	0	0
17	Satara	0	0	0	0	0	0
18	Solapur Rural	0	0	0	0	0	0
*	**Kolhapur Range**	**0**	**0**	**1**	**0.1**	**0**	**0**
19	Bhandara	0	0	0	0	0	0
20	Chandrapur	0	0	0	0	0	0
21	Nagpur Rural	0	0	0	0	0	0
22	Wardha	0	0	0	0	0	0
*	**Nagpur Range**	**0**	**0**	**0**	**0**	**0**	**0**
23	Gadchiroli	0	0	0	0	0	0
24	Gondia	0	0	0	0	0	0
*	**Gadchiroli Range**	**0**	**0**	**0**	**0**	**0**	**0**
25	Ahmednagar	0	0	0	0	0	0
26	Dhule	0	0	0	0	0	0
27	Jalgaon	0	0	0	0	0	0
28	Nasik Rural	0	0	0	0	0	0
29	Nandurbar	0	0	0	0	0	0
*	**Nasik Range**	**0**	**0**	**0**	**0**	**0**	**0**
30	Raigad	6	1.1	0	0	0	0
31	Ratnagiri	12	10.1	0	0	0	0
32	Sindhudurg	2	1.1	0	0	0	0
33	Thane Rural	0	0	0	0	0	0
34	Palghar	0	0	0	0	0	0
*	**Thane Range**	**20**	**12.3**	**0**	**0**	**0**	**0**
35	Mumbai Railway	264	83.3	0	0	0	0
36	Pune Railway	28	9.2	0	0	0	0
37	Nagpur Railway	44	28	0	0	0	0
*	**Railway Range**	**336**	**120.5**	**0**	**0**	**0**	**0**
38	Nagpur Commr.	0	0	0	0	0	0
39	Pune Commr.	0	0	1	0.1	0	0
40	Thane Commr.	1	0.2	0	0	0	0
41	Mumbai Commr.	1	1.8	26	9.4	1	0.4
42	Nasik Commr.	0	0	1	0.4	0	0
43	Aurangabad Commr.	0	0	0	0	0	0
44	Solapur Commr.	0	0	0	0	0	0
45	Navi Mumbai	0	0	0	0	1	0
46	Amravati Commr.	0	0	0	0	0	0
*	**Total Commrs.**	**2**	**2**	**28**	**9.9**	**2**	**0.4**
*	**Total of M.S**	**358**	**134.8**	**29**	**10.0**	**3**	**9.4**

तक्ता क्र. ४१ (पुर्ण)

Table No. 41 (Concluded)

Sr. No.	UNIT	Bank		Commercial Establishments (Shops Etc.)		Other Places		Total	
		Number	Value	Number	Value	Number	Value	Number	Value
1	2	15	16	17	18	19	20	21	22
1	Akola	0	0	0	0	82	98.8	87	103.7
2	Amravati Rural	1	0	2	3	48	20.1	55	23.4
3	Buldhana	0	0	5	1.2	7	0.7	52	29.1
4	Yavatmal	0	0	2	1	96	60.5	119	66.7
5	Washim	0	0	0	0	12	5	29	12.4
*	**Amravati Range**	**1**	**0**	**9**	**5.2**	**245**	**185.1**	**342**	**235.3**
6	Aurangabad Rural	0	0	0	0	56	21.7	74	36.3
7	Jalna	0	0	0	0	36	18.9	66	30.1
8	Beed	0	0	2	0.9	81	48.7	110	78.3
9	Osmanabad	0	0	2	0.3	32	17.1	46	25.6
*	**Aurangabad Range**	**0**	**0**	**4**	**1.2**	**205**	**106.4**	**296**	**170.3**
10	Nanded	0	0	5	95.5	9	1.5	83	131.3
11	Latur	0	0	0	0	59	68.1	61	68.8
12	Parbhani	0	0	2	0.5	27	10.9	37	21
13	Hingoli	0	0	0	0	18	5.1	21	23.1
*	**Nanded Range**	**0**	**0**	**7**	**96**	**113**	**85.6**	**202**	**244.2**
14	Kolhapur	0	0	4	345.8	24	7.9	161	407
15	Pune Rural	1	3.8	0	0	211	129	226	177.4
16	Sangli	0	0	1	0.3	39	486.8	83	500.1
17	Satara	0	0	15	2.4	175	106.9	209	120.6
18	Solapur Rural	0	0	0	0	42	405.4	65	434.9
*	**Kolhapur Range**	**1**	**3.8**	**20**	**348.5**	**491**	**1136**	**744**	**1640**
19	Bhandara	0	0	3	0.5	16	2.1	21	3.2
20	Chandrapur	0	0	0	0	39	18.6	44	28.2
21	Nagpur Rural	0	0	2	1.3	31	134.7	45	144.2
22	Wardha	0	0	0	0	44	16.5	46	33
*	**Nagpur Range**	**0**	**0**	**5**	**1.8**	**130**	**171.9**	**156**	**208.6**
23	Gadchiroli	0	0	0	0	6	11.7	8	11.7
24	Gondia	0	0	1	0	2	1.7	21	10.5
*	**Gadchiroli Range**	**0**	**0**	**1**	**0**	**8**	**13.4**	**29**	**22.2**
25	Ahmednagar	0	0	0	0	103	145.6	278	272.7
26	Dhule	0	0	0	0	56	34.1	60	61.7
27	Jalgaon	1	4.6	4	5.8	40	33.4	124	75.3
28	Nasik Rural	0	0	1	0.3	71	205.7	115	293.2
29	Nandurbar	0	0	2	0.2	15	7.6	23	10.1
*	**Nasik Range**	**1**	**4.6**	**7**	**6.3**	**285**	**426.4**	**600**	**713**
30	Raigad	0	0	1	0.3	23	20.3	62	38.6
31	Ratnagiri	0	0	3	1.4	3	1.1	42	24.5
32	Sindhudurg	0	0	0	0	10	2.9	16	7.9
33	Thane Rural	0	0	3	8.1	102	204.7	175	291.5
34	Palghar	0	0	7	8.2	150	97	232	233.7
*	**Thane Range**	**0**	**0**	**14**	**18**	**288**	**326**	**527**	**596.2**
35	Mumbai Railway	0	0	0	0	267	63.6	531	146.9
36	Pune Railway	0	0	0	0	51	4.2	79	13.4
37	Nagpur Railway	0	0	0	0	34	12.6	78	40.6
*	**Railway Range**	**0**	**0**	**0**	**0**	**352**	**80.4**	**688**	**200.9**
38	Nagpur Commr.	0	0	3	0.1	412	169.1	464	184.5
39	Pune Commr.	0	0	20	104.4	266	819.4	731	1323.4
40	Thane Commr.	1	1.1	143	49.7	491	454.1	1202	876.5
41	Mumbai Commr.	0	0	29	54.1	395	565.3	1708	1844.8
42	Nasik Commr.	0	0	13	4.9	82	29.5	187	80.7
43	Aurangabad Commr.	0	0	0	0	200	58.3	210	62.2
44	Solapur Commr.	0	0	0	0	44	12.5	85	31.3
45	Navi Mumbai	0	0	0	0	110	134.7	313	278.1
46	Amravati Commr.	0	0	5	2.5	67	35.3	77	39.4
*	**Total Commrs.**	**1**	**1.1**	**213**	**215.7**	**2067**	**2278.2**	**4977**	**4720.9**
*	**Total of M.S**	**4**	**9.5**	**280**	**692.7**	**4184**	**4809.4**	**8561**	**8751.6**

तक्ता क्र. ४२

घरफोडी

सन २०१५ मधील घटक-निहाय घरफोडीचे गुन्हे, चोरीस गेलेल्या मालमत्तेची किंमत (रु. लाखामध्ये) घटनास्थळ-निहाय

TABLE NO. 42

Burglary

Unit-Wise Number Of Burglary Cases Reported And Value Of The Property Stolen As Per Place Of Occurrence During 2015 (Rs.In Lakhs)

Sr. No.	UNIT	Residential Premises		Highways/Road		River & Sea	
		Number	Value	Number	Value	Number	Value
1	2	3	4	5	6	7	8
1	Akola	128	55.3	0	0	0	0
2	Amravati Rural	158	55	0	0	0	0
3	Buldhana	160	85.1	0	0	0	0
4	Yavatmal	291	155.7	0	0	0	0
5	Washim	69	56.4	0	0	0	0
*	**Amravati Range**	**806**	**407.5**	**0**	**0**	**0**	**0**
6	Aurangabad Rural	167	144	0	0	0	0
7	Jalna	219	45.8	0	0	0	0
8	Beed	195	195.7	0	0	0	0
9	Osmanabad	110	80	0	0	0	0
*	**Aurangabad Range**	**691**	**465.5**	**0**	**0**	**0**	**0**
10	Nanded	163	121.6	0	0	0	0
11	Latur	177	164.3	0	0	0	0
12	Parbhani	157	146.1	0	0	0	0
13	Hingoli	5	7.2	0	0	0	0
*	**Nanded Range**	**502**	**439.2**	**0**	**0**	**0**	**0**
14	Kolhapur	195	162.6	0	0	0	0
15	Pune Rural	45	12	0	0	0	0
16	Sangli	147	90.9	0	0	0	0
17	Satara	221	183.5	0	0	0	0
18	Solapur Rural	126	112.5	0	0	0	0
*	**Kolhapur Range**	**734**	**561.5**	**0**	**0**	**0**	**0**
19	Bhandara	138	58.5	0	0	0	0
20	Chandrapur	120	77.1	0	0	0	0
21	Nagpur Rural	253	139.1	0	0	0	0
22	Wardha	128	112.9	0	0	0	0
*	**Nagpur Range**	**639**	**387.6**	**0**	**0**	**0**	**0**
23	Gadchiroli	48	30.4	0	0	0	0
24	Gondia	77	38.9	0	0	0	0
*	**Gadchiroli Range**	**125**	**69.3**	**0**	**0**	**0**	**0**
25	Ahmednagar	446	336.6	0	0	0	0
26	Dhule	111	230.6	0	0	0	0
27	Jalgaon	106	90.6	0	0	0	0
28	Nasik Rural	176	161.8	0	0	0	0
29	Nandurbar	55	55.1	0	0	0	0
*	**Nasik Range**	**894**	**874.7**	**0**	**0**	**0**	**0**
30	Raigad	149	146.8	2	0.5	1	0.8
31	Ratnagiri	77	65.4	0	0	0	0
32	Sindhudurg	53	32.7	0	0	0	0
33	Thane Rural	255	42.3	0	0	0	0
34	Palghar	417	580.5	25	12.9	0	0
*	**Thane Range**	**951**	**867.7**	**27**	**13.4**	**1**	**0.8**
35	Mumbai Railway	0	0	0	0	0	0
36	Pune Railway	0	0	0	0	0	0
37	Nagpur Railway	0	0	0	0	0	0
*	**Railway Range**	**0**	**0**	**0**	**0**	**0**	**0**
38	Nagpur Commr.	475	255.8	0	0	0	0
39	Pune Commr.	885	1141.6	34	17.4	0	0
40	Thane Commr.	937	862.6	79	66.2	0	0
41	Mumbai Commr.	1863	3702.9	76	301.8	0	0
42	Nasik Commr.	227	599.4	0	0	0	0
43	Aurangabad Commr.	307	169	0	0	0	0
44	Solapur Commr.	193	152.1	0	0	0	0
45	Navi Mumbai	484	527.8	0	0	0	0
46	Amravati Commr.	208	108.6	0	0	0	0
*	**Total Commrs.**	**5579**	**7519.8**	**189**	**385.4**	**0**	**0**
*	**Total of M.S**	**10921**	**11592.8**	**216**	**398.8**	**1**	**0.8**

तक्ता क्र.. ४२ (चालू)

Table No. 42 (Continued)

Sr. No.	Unit	Running Train		Religious Places		ATM		Bank	
		Number	Value	Number	Value	Number	Value	Number	Value
1	2	9	10	11	12	13	14	15	16
1	Akola	0	0	1	0	0	0	0	0
2	Amravati Rural	0	0	0	0	0	0	0	0
3	Buldhana	0	0	0	0	0	0	0	0
4	Yavatmal	0	0	0	0	0	0	0	0
5	Washim	0	0	1	0	0	0	0	0
*	**Amravati Range**	**0**	**0**	**2**	**0**	**0**	**0**	**0**	**0**
6	Aurangabad Rural	0	0	5	0.2	0	0	7	66.4
7	Jalna	0	0	0	0	0	0	0	0
8	Beed	0	0	2	0.3	0	0	2	0.5
9	Osmanabad	0	0	2	0.4	0	0	2	8.7
*	**Aurangabad Range**	**0**	**0**	**9**	**0.9**	**0**	**0**	**11**	**75.6**
10	Nanded	0	0	4	0.2	0	0	3	0.3
11	Latur	0	0	0	0	0	0	0	0
12	Parbhani	0	0	0	0	0	0	0	0
13	Hingoli	0	0	1	0	0	0	3	4.7
*	**Nanded Range**	**0**	**0**	**5**	**0.2**	**0**	**0**	**6**	**5**
14	Kolhapur	0	0	1	0.3	1	0	0	0
15	Pune Rural	0	0	4	1	0	0	0	0
16	Sangli	0	0	1	0.3	0	0	0	0
17	Satara	0	0	5	3.3	0	0	2	0.1
18	Solapur Rural	0	0	2	12.3	0	0	0	0
*	**Kolhapur Range**	**0**	**0**	**13**	**17.2**	**1**	**0**	**2**	**0.1**
19	Bhandara	0	0	0	0	0	0	1	0
20	Chandrapur	0	0	0	0	0	0	0	0
21	Nagpur Rural	0	0	1	0	0	0	2	0
22	Wardha	0	0	0	0	0	0	0	0
*	**Nagpur Range**	**0**	**0**	**1**	**0**	**0**	**0**	**3**	**0**
23	Gadchiroli	0	0	1	0.1	1	0	5	3.6
24	Gondia	0	0	0	0	1	1.9	0	0
*	**Gadchiroli Range**	**0**	**0**	**1**	**0.1**	**2**	**1.9**	**5**	**3.6**
25	Ahmednagar	0	0	1	0.2	0	0	0	0
26	Dhule	0	0	3	3.1	0	0	0	0
27	Jalgaon	0	0	0	0	0	0	0	0
28	Nasik Rural	0	0	6	4.5	0	0	6	50.2
29	Nandurbar	0	0	3	0.3	0	0	1	0
*	**Nasik Range**	**0**	**0**	**13**	**8.1**	**0**	**0**	**7**	**50.2**
30	Raigad	0	0	12	4.6	0	0	1	1.5
31	Ratnagiri	0	0	2	0.2	0	0	1	0
32	Sindhudurg	0	0	5	0.6	0	0	1	0
33	Thane Rural	0	0	1	0	0	0	0	0
34	Palghar	0	0	1	0.2	0	0	0	0
*	**Thane Range**	**0**	**0**	**21**	**5.6**	**0**	**0**	**3**	**1.5**
35	Mumbai Railway	0	0	0	0	0	0	0	0
36	Pune Railway	0	0	0	0	0	0	0	0
37	Nagpur Railway	0	0	0	0	0	0	0	0
*	**Railway Range**	**0**	**0**	**0**	**0**	**0**	**0**	**0**	**0**
38	Nagpur Commr.	0	0	11	1	2	19.8	0	0
39	Pune Commr.	0	0	5	47.1	2	0.6	1	0.7
40	Thane Commr.	3	0.5	8	1.9	3	0.4	43	174.6
41	Mumbai Commr.	0	0	12	1	0	0	1	0.1
42	Nasik Commr.	0	0	5	1.3	1	0	0	0
43	Aurangabad Commr.	0	0	2	0.6	4	23.1	0	0
44	Solapur Commr.	0	0	0	0	0	0	0	0
45	Navi Mumbai	0	0	3	0.5	2	0	2	0
46	Amravati Commr.	0	0	0	0	0	0	1	0.3
*	**Total Commrs.**	**3**	**0.5**	**46**	**53.4**	**14**	**43.9**	**48**	**175.7**
*	**Total of M.S**	**3**	**0.5**	**111**	**85.5**	**17**	**45.8**	**85**	**311.7**

तक्ता क्र. ४२ (पुर्ण)

Table No. 42 (Concluded)

Sr. No.	Unit	Commercial Establishments (Shops Etc.)		Other Places		Total	
		Number	Value	Number	Value	Number	Value
1	2	17	18	19	20	21	22
1	Akola	5	5.9	3	4	137	65.2
2	Amravati Rural	69	10.8	0	0	227	65.8
3	Buldhana	25	25.7	0	0	185	110.8
4	Yavatmal	14	10.4	23	10.2	329	176.4
5	Washim	33	23	12	6.9	114	86.3
*	**Amravati Range**	**146**	**75.8**	**38**	**21.1**	**992**	**504.5**
6	Aurangabad Rural	24	16.2	34	12.5	237	239.5
7	Jalna	0	0	17	18.8	236	64.6
8	Beed	40	22	0	0	239	218.5
9	Osmanabad	37	29.5	21	4.4	172	123.1
*	**Aurangabad Range**	**101**	**67.7**	**72**	**35.7**	**884**	**645.7**
10	Nanded	60	74.8	19	7.4	249	204.4
11	Latur	13	3.4	0	0	190	167.7
12	Parbhani	42	29.3	29	12.7	228	188.1
13	Hingoli	16	5.5	64	46	89	63.4
*	**Nanded Range**	**131**	**113**	**112**	**66.1**	**756**	**623.6**
14	Kolhapur	79	45.8	42	39.9	318	248.5
15	Pune Rural	13	5.1	585	445.9	647	464
16	Sangli	21	12.5	20	12.8	189	116.5
17	Satara	70	41.6	37	9.8	335	238.2
18	Solapur Rural	27	11	47	46.6	202	182.4
*	**Kolhapur Range**	**210**	**116**	**731**	**555**	**1691**	**1249.6**
19	Bhandara	18	6.6	9	1.7	166	66.8
20	Chandrapur	30	9.4	67	26.3	217	112.7
21	Nagpur Rural	11	3.4	28	3	295	145.5
22	Wardha	0	0	58	2.6	186	115.5
*	**Nagpur Range**	**59**	**19.4**	**162**	**33.6**	**864**	**440.5**
23	Gadchiroli	27	19.9	12	1.8	94	55.9
24	Gondia	12	8.2	11	5.4	101	54.4
*	**Gadchiroli Range**	**39**	**28.1**	**23**	**7.2**	**195**	**110.3**
25	Ahmednagar	1	0.5	0	0	448	337.3
26	Dhule	0	0	0	0	114	233.7
27	Jalgaon	117	104.8	9	11.5	232	206.8
28	Nasik Rural	33	50.6	70	249.5	291	516.5
29	Nandurbar	8	25.1	3	0.5	70	81
*	**Nasik Range**	**159**	**181**	**82**	**261.5**	**1155**	**1375.3**
30	Raigad	43	42.6	51	30.4	259	227.1
31	Ratnagiri	23	18.9	20	5.5	123	90
32	Sindhudurg	13	6.3	13	10.1	85	49.7
33	Thane Rural	43	126.7	37	196.5	336	365.5
34	Palghar	145	323	46	98.2	634	1014.8
*	**Thane Range**	**267**	**517.5**	**167**	**340.7**	**1437**	**1747.1**
35	Mumbai Railway	0	0	2	1.6	2	1.6
36	Pune Railway	0	0	1	0	1	0
37	Nagpur Railway	0	0	3	8.9	3	8.9
*	**Railway Range**	**0**	**0**	**6**	**10.5**	**6**	**10.5**
38	Nagpur Commr.	6	13.9	585	610.6	1079	901.1
39	Pune Commr.	194	338.1	73	79.9	1194	1625.4
40	Thane Commr.	131	586.4	415	588	1619	2280.6
41	Mumbai Commr.	705	1880.5	353	731.8	3010	6618.2
42	Nasik Commr.	58	71.1	9	1701.1	300	2373
43	Aurangabad Commr.	0	0	36	33.2	349	225.8
44	Solapur Commr.	5	0.2	6	0.3	204	152.6
45	Navi Mumbai	36	59.7	82	96.5	609	684.6
46	Amravati Commr.	15	13.2	13	9.5	237	131.6
*	**Total Commrs.**	**1150**	**2963.1**	**1572**	**3850.9**	**8601**	**14992.9**
*	**Total of M.S**	**2262**	**4082**	**2965**	**5182.3**	**16581**	**21700**

तक्ता क्र. ४३

चोरी

सन २०१५ मधील घटक-निहाय चोरीचे गुन्हे, चोरीस गेलेल्या मालमत्तेची किंमत (रु. लाखामध्ये) घटनास्थळ-निहाय

TABLE NO. 43

Thefts

Unit-Wise Number Of Thefts Cases Reported & Value Of The Property Stolen As Per Place Of Occurrence During 2015 (Rs.In Lakhs)

Sr. No.	UNIT	Residential Premises		Highways/Road		River & Sea	
		Number	Value	Number	Value	Number	Value
1	2	3	4	5	6	7	8
1	Akola	189	60.9	0	0	15	1.7
2	Amravati Rural	51	4.9	9	2.3	78	5.4
3	Buldhana	316	156.2	48	17.2	0	0
4	Yavatmal	130	70.7	0	4.5	20	7.9
5	Washim	359	135.6	0	0	0	0
*	**Amravati Range**	**1045**	**428.3**	**57**	**24**	**113**	**15**
6	Aurangabad Rural	162	109.8	78	71.6	0	0
7	Jalna	475	184.5	15	15.2	0	0
8	Beed	4	4.8	0	0	1	0.1
9	Osmanabad	9	1.2	15	18.1	10	13.9
*	**Aurangabad Range**	**650**	**300.3**	**108**	**104.9**	**11**	**14**
10	Nanded	31	11.3	401	226.4	51	5.9
11	Latur	23	21.2	0	0	0	0
12	Parbhani	78	25.6	4	11.6	0	0
13	Hingoli	10	8.7	0	0	0	0
*	**Nanded Range**	**142**	**66.8**	**405**	**238**	**51**	**5.9**
14	Kolhapur	17	126.5	473	208.9	7	2.8
15	Pune Rural	34	92.5	0	0	0	0
16	Sangli	104	86.4	17	37.5	14	1.2
17	Satara	104	49	3	3.2	0	0
18	Solapur Rural	142	80.5	0	0	0	0
*	**Kolhapur Range**	**401**	**434.9**	**493**	**249.6**	**21**	**4**
19	Bhandara	46	20	3	8.1	0	0
20	Chandrapur	31	10.7	0	0	47	2.3
21	Nagpur Rural	18	2.9	0	0	202	13.5
22	Wardha	123	2.2	5	0.6	0	0
*	**Nagpur Range**	**218**	**35.8**	**8**	**8.7**	**249**	**15.8**
23	Gadchiroli	3	1	0	0	0	0
24	Gondia	65	16.5	0	0	0	0
*	**Gadchiroli Range**	**68**	**17.5**	**0**	**0**	**0**	**0**
25	Ahmednagar	621	481.7	583	344.4	419	73.7
26	Dhule	0	0	0	0	0	0
27	Jalgaon	97	96.8	0	0	0	0
28	Nasik Rural	175	45.6	71	63.6	28	2.1
29	Nandurbar	15	19.4	2	23.2	0	0
*	**Nasik Range**	**908**	**643.5**	**656**	**431.2**	**447**	**75.8**
30	Raigad	179	425.4	111	346.6	23	53.5
31	Ratnagiri	60	40	1	43.6	11	3
32	Sindhudurg	6	5.8	11	22.4	6	2.5
33	Thane Rural	584	409	4	18	0	0
34	Palghar	321	649.2	190	286.9	72	491.1
*	**Thane Range**	**1150**	**1529.4**	**317**	**717.5**	**112**	**550.1**
35	Mumbai Railway	0	0	0	0	0	0
36	Pune Railway	0	0	0	0	0	0
37	Nagpur Railway	0	0	0	0	0	0
*	**Railway Range**	**0**	**0**	**0**	**0**	**0**	**0**
38	Nagpur Commr.	434	194.4	89	54.9	0	0
39	Pune Commr.	1479	1031.1	1328	649.7	0	0
40	Thane Commr.	486	330	684	457.9	2	6.3
41	Mumbai Commr.	2260	2325.9	4621	4528.7	8	4
42	Nasik Commr.	412	121.6	101	106.6	0	0
43	Aurangabad Commr.	233	49.3	6	3.9	0	0
44	Solapur Commr.	448	286.9	0	0	0	0
45	Navi Mumbai	305	351.4	27	119.2	4	6.5
46	Amravati Commr.	332	89.2	0	0	0	0
*	**Total Commrs.**	**6389**	**4779.8**	**6856**	**5920.9**	**14**	**16.8**
*	**Total of M.S**	**10971**	**8236.3**	**8900**	**7694.8**	**1018**	**697.4**

तक्ता क्र. ४३ (चालू)

Table No.43 (Continued)

Sr. No.	Unit	Running Train		Religious Places		ATM	
		Number	Value	Number	Value	Number	Value
1	2	9	10	11	12	13	14
1	Akola	0	0	12	1.9	2	0.8
2	Amravati Rural	0	0	0	0	0	0
3	Buldhana	0	0	6	0.7	0	0
4	Yavatmal	0	0	23	1.9	0	0
5	Washim	0	0	0	0	0	0
*	**Amravati Range**	**0**	**0**	**41**	**4.5**	**2**	**0.8**
6	Aurangabad Rural	0	0	1	0	0	0
7	Jalna	0	0	0	0	0	0
8	Beed	0	0	3	0.1	2	12.3
9	Osmanabad	0	0	1	0.2	0	0
*	**Aurangabad Range**	**0**	**0**	**5**	**0.3**	**2**	**12.3**
10	Nanded	0	0	5	0.6	3	0
11	Latur	0	0	0	0	0	0
12	Parbhani	0	0	0	0	0	0
13	Hingoli	0	0	0	0	0	0
*	**Nanded Range**	**0**	**0**	**5**	**0.6**	**3**	**0**
14	Kolhapur	0	0	4	2	0	0
15	Pune Rural	0	0	2	0.3	0	0
16	Sangli	0	0	4	1.1	1	0
17	Satara	0	0	5	1.2	4	7.2
18	Solapur Rural	0	0	2	0.7	4	0
*	**Kolhapur Range**	**0**	**0**	**17**	**5.3**	**9**	**7.2**
19	Bhandara	0	0	6	0.3	5	0
20	Chandrapur	0	0	0	0	0	0
21	Nagpur Rural	0	0	8	1.3	1	0
22	Wardha	0	0	21	3.6	2	2.7
*	**Nagpur Range**	**0**	**0**	**35**	**5.2**	**8**	**2.7**
23	Gadchiroli	0	0	1	0	0	0
24	Gondia	0	0	0	0	0	0
*	**Gadchiroli Range**	**0**	**0**	**1**	**0**	**0**	**0**
25	Ahmednagar	0	0	19	2.8	0	0
26	Dhule	0	0	3	0.2	0	0
27	Jalgaon	0	0	4	0.2	0	0
28	Nasik Rural	0	0	4	0.3	4	18.3
29	Nandurbar	0	0	4	0.8	0	0
*	**Nasik Range**	**0**	**0**	**34**	**4.3**	**4**	**18.3**
30	Raigad	14	13.4	3	12.2	3	2.7
31	Ratnagiri	68	71.3	13	1.3	1	0
32	Sindhudurg	10	9.7	10	0.7	0	0
33	Thane Rural	0	0	0	0	0	0
34	Palghar	0	0	2	0	1	0.8
*	**Thane Range**	**92**	**94.4**	**28**	**14.2**	**5**	**3.5**
35	Mumbai Railway	1068	588.5	0	0	0	0
36	Pune Railway	305	202.4	0	0	0	0
37	Nagpur Railway	1222	764.5	0	0	0	0
*	**Railway Range**	**2595**	**1555.4**	**0**	**0**	**0**	**0**
38	Nagpur Commr.	0	0	4	0.4	9	0.3
39	Pune Commr.	0	0	7	6	1	0.5
40	Thane Commr.	0	0	2	0.3	6	1
41	Mumbai Commr.	1	0.3	25	6.7	7	2.2
42	Nasik Commr.	0	0	65	37.8	3	25.8
43	Aurangabad Commr.	0	0	2	0.1	0	0
44	Solapur Commr.	0	0	0	0	0	0
45	Navi Mumbai	4	2.2	6	5.4	4	3.9
46	Amravati Commr.	0	0	0	0	0	0
*	**Total Commrs.**	**5**	**2.5**	**111**	**56.7**	**30**	**33.7**
*	**Total of M.S**	**2692**	**1652.3**	**277**	**91.1**	**63**	**78.5**

तक्ता क्र. ४३ (पुर्ण)

Table No.43 (Concluded)

Sr. No.	Unit	Bank		Commercial Establishments (Shops Etc.)		Other Places		Total	
		Number	Value	Number	Value	Number	Value	Number	Value
1	2	15	16	17	18	19	20	21	22
1	Akola	0	0	51	50.9	472	168.3	741	284.4
2	Amravati Rural	0	0	235	7.8	892	310.5	1265	330.9
3	Buldhana	1	3.8	109	46.8	192	30	672	254.7
4	Yavatmal	0	0	102	40.1	1318	1265.8	1593	1386.4
5	Washim	0	0	60	25.4	66	13.6	485	174.6
*	**Amravati Range**	**1**	**3.8**	**557**	**171**	**2940**	**1788.2**	**4756**	**2431**
6	Aurangabad Rural	0	0	14	7.5	794	804.4	1049	993.3
7	Jalna	0	0	0	0	86	18	576	217.8
8	Beed	1	16	4	5.5	848	1881.8	863	1920.6
9	Osmanabad	0	0	50	27.6	445	232.5	530	293.5
*	**Aurangabad Range**	**1**	**16**	**68**	**40.6**	**2173**	**2936.7**	**3018**	**3425.2**
10	Nanded	0	0	13	7.8	184	85.8	688	337.9
11	Latur	0	0	7	4.8	596	364.5	626	390.4
12	Parbhani	0	0	31	9.5	414	416.9	527	463.6
13	Hingoli	0	0	0	0	143	108	153	116.8
*	**Nanded Range**	**0**	**0**	**51**	**22.1**	**1337**	**975.2**	**1994**	**1308.7**
14	Kolhapur	1	0.3	31	21.6	414	203.1	947	565.2
15	Pune Rural	1	0.3	14	32.6	2608	3562.1	2659	3687.7
16	Sangli	0	0	26	25.1	452	343.5	618	494.7
17	Satara	3	6.4	101	35.2	1014	822.5	1234	924.6
18	Solapur Rural	0	0	68	3.2	755	2264.2	971	2348.6
*	**Kolhapur Range**	**5**	**7**	**240**	**117.7**	**5243**	**7195.4**	**6429**	**8020.8**
19	Bhandara	9	2.3	30	14	279	137.7	378	182.5
20	Chandrapur	2	0.6	8	3	519	314.9	607	331.5
21	Nagpur Rural	0	0	8	1.2	646	369.8	883	388.7
22	Wardha	0	0	9	0.2	566	300.4	726	309.6
*	**Nagpur Range**	**11**	**2.9**	**55**	**18.4**	**2010**	**1122.8**	**2594**	**1212.3**
23	Gadchiroli	0	0	4	0.8	127	41.9	135	43.7
24	Gondia	0	0	30	1.7	215	227.7	310	245.9
*	**Gadchiroli Range**	**0**	**0**	**34**	**2.5**	**342**	**269.6**	**445**	**289.6**
25	Ahmednagar	0	0	0	0	197	297.6	1839	1200.2
26	Dhule	0	0	0	0	357	238.5	360	238.7
27	Jalgaon	0	0	148	203.8	668	305.5	917	606.3
28	Nasik Rural	0	0	19	11.5	626	753.4	927	894.8
29	Nandurbar	0	0	5	1.0	181	60.8	207	105.1
*	**Nasik Range**	**0**	**0**	**172**	**216.3**	**2029**	**1655.8**	**4250**	**3045.1**
30	Raigad	1	4	11	7.3	240	190.7	585	1055.8
31	Ratnagiri	0	0	17	12.5	183	158.5	354	330.1
32	Sindhudurg	0	0	3	0.3	74	62.9	120	104.3
33	Thane Rural	0	0	22	9.4	240	262.9	850	699.3
34	Palghar	0	0	56	57.2	501	662.9	1143	2148.1
*	**Thane Range**	**1**	**4**	**109**	**86.7**	**1238**	**1337.9**	**3052**	**4337.6**
35	Mumbai Railway	0	0	0	0	2217	586.8	3285	1175.3
36	Pune Railway	0	0	0	0	299	118	604	320.4
37	Nagpur Railway	0	0	0	0	771	931.2	1993	1695.8
*	**Railway Range**	**0**	**0**	**0**	**0**	**3287**	**1636**	**5882**	**3191.5**
38	Nagpur Commr.	0	0	14	2.4	2494	1304.2	3044	1556.6
39	Pune Commr.	3	17.9	320	177.6	1899	3756.4	5037	5639.1
40	Thane Commr.	24	47.1	419	227.1	1903	1304.7	3526	2374.4
41	Mumbai Commr.	26	19	627	1380.3	2847	3004	10422	11271.2
42	Nasik Commr.	3	0.6	144	61.0	436	2019.2	1164	2372.5
43	Aurangabad Commr.	0	0	0	0	1979	703	2220	756.2
44	Solapur Commr.	0	0	25	3.6	312	5.4	785	295.8
45	Navi Mumbai	0	0	15	25.8	959	1201.3	1324	1715.8
46	Amravati Commr.	0	0	128	44.1	726	212.4	1186	345.7
*	**Total Commrs.**	**56**	**84.6**	**1692**	**1921.9**	**13555**	**13510.6**	**28708**	**26327.3**
*	**Total of M.S**	**75**	**118.3**	**2978**	**2597.2**	**34154**	**32428.2**	**61128**	**53589.1**

तक्ता क्र. ४४

वाहन चोरी

सन २०१५ मधील घटक-निहाय एकुण चोरीस गेलेली वाहने व मिळालेली वाहने

TABLE NO. 44

Auto Theft

Number Of Vehicles Stolen / Recovered/ Abandoned During 2015 (Unit-Wise)

Sr. No.	Unit	Total Vehicles					
		Government			Private		
		Stolen	Recovered	Coordinated	Stolen	Recovered	Coordinated
1	2	3	4	5	6	7	8
1	Akola	0	0	0	195	54	47
2	Amravati Rural	0	0	0	178	41	19
3	Buldhana	0	0	0	162	48	42
4	Yavatmal	0	0	0	283	46	14
5	Washim	0	0	0	99	7	7
*	**Amravati Range**	**0**	**0**	**0**	**917**	**196**	**129**
6	Aurangabad Rural	0	0	0	424	47	17
7	Jalna	0	0	0	252	187	62
8	Beed	0	0	0	355	27	6
9	Osmanabad	0	0	0	181	45	45
*	**Aurangabad Range**	**0**	**0**	**0**	**1212**	**306**	**130**
10	Nanded	0	0	0	317	97	97
11	Latur	0	0	0	285	45	9
12	Parbhani	0	0	0	193	48	47
13	Hingoli	0	0	0	36	7	7
*	**Nanded Range**	**0**	**0**	**0**	**831**	**197**	**160**
14	Kolhapur	0	0	0	509	159	156
15	Pune Rural	0	0	0	1381	130	130
16	Sangli	0	0	0	267	87	80
17	Satara	1	1	1	503	158	158
18	Solapur Rural	0	0	0	348	62	13
*	**Kolhapur Range**	**1**	**1**	**1**	**3008**	**596**	**537**
19	Bhandara	0	0	0	84	17	5
20	Chandrapur	0	0	0	195	60	47
21	Nagpur Rural	0	0	0	196	51	47
22	Wardha	0	0	0	160	47	42
*	**Nagpur Range**	**0**	**0**	**0**	**635**	**175**	**141**
23	Gadchiroli	0	0	0	49	4	4
24	Gondia	0	0	0	79	24	8
*	**Gadchiroli Range**	**0**	**0**	**0**	**128**	**28**	**12**
25	Ahmednagar	0	0	0	583	135	132
26	Dhule	0	0	0	163	78	78
27	Jalgaon	0	0	0	302	74	68
28	Nasik Rural	0	0	0	359	77	43
29	Nandurbar	0	0	0	84	24	2
*	**Nasik Range**	**0**	**0**	**0**	**1491**	**388**	**323**
30	Raigad	0	0	0	174	49	49
31	Ratnagiri	0	0	0	77	36	36
32	Sindhudurg	0	0	0	28	11	11
33	Thane Rural	0	0	0	355	59	48
34	Palghar	0	0	0	489	74	24
*	**Thane Range**	**0**	**0**	**0**	**1123**	**229**	**168**
35	Mumbai Railway	0	0	0	0	0	0
36	Pune Railway	0	0	0	14	4	4
37	Nagpur Railway	0	0	0	26	2	2
*	**Railway Range**	**0**	**0**	**0**	**40**	**6**	**6**
38	Nagpur Commr.	0	0	0	1608	433	165
39	Pune Commr.	7	1	1	2687	684	442
40	Thane Commr.	0	0	0	1866	393	393
41	Mumbai Commr.	0	0	0	3274	962	457
42	Nasik Commr.	0	0	0	634	113	23
43	Aurangabad Commr.	0	0	0	889	213	185
44	Solapur Commr.	0	0	0	385	66	12
45	Navi Mumbai	0	0	0	594	153	138
46	Amravati Commr.	0	0	0	326	112	103
*	**Total Commrs.**	**7**	**1**	**1**	**12263**	**3129**	**1918**
*	**Total of M.S**	**8**	**2**	**2**	**21648**	**5250**	**3524**

प्रकरण - ९

आर्थिक गुन्हे

प्रस्तावना

९.१.१ सर्वसाधारणपणे गुन्हेगारीचा विचार करता आर्थिक गुन्हे हे पारंपारिक गुन्हेगारीपेक्षा वेगळे नाहीत. आर्थिक गुन्हेगारी ही त्यामधील विशेष कार्यपध्दतीमुळे वैशिष्टयपूर्ण ठरते. अशा प्रकरणांमुळे एखादी व्यक्तीच नव्हे तर संपूर्ण समाजास आर्थिक नुकसान सोसावे लागते. अशी कृत्ये ब-याच वेळा कायद्यातील पळवाटेचा गैरफायदा घेऊन केली जातात.

९.१.२ मुंबई शहर हे राज्याची राजधानी तर आहेच. शिवाय देशाची आर्थिक राजधानी देखील आहे. या शहरातील व परिसरातील प्रचंड आर्थिक उलाढाली हया आर्थिक गुन्हेगारांचे लक्ष वेधतात. इतर ठिकाणांबाबतही तशीच परिस्थिती आहे. म्हणूनच अशा गुन्हयांकडे विशेष लक्ष देणे आवश्यक ठरते.

९.१.३ या प्रकरणासाठी खाली नमूद केलेले गुन्हे हे आर्थिक गुन्हे किंवा पांढरपेशी गुन्हे म्हणून वर्गीकृत करण्यात आले आहेत.

१) अन्यायाने विश्वासघात
२) फसवणूक
३) बनावट
४) नकली नोटा व नाणी
५) सांस्कृतिक मालमत्तेची चोरी
६) पारपत्र कायदयाखालील प्रकरणे
७) प्रकाशनहक्क कायदयाखालील प्रकरणे (कॉपीराईट ॲक्ट)
८) अंमली पदार्थ विरोधी कायदयाखालील प्रकरणे

CHAPTER - 9

Economic Offences

Preface

9.1.1 The criminal nature of Economic Offences does not differ from traditional penal offences. But Economic Offences constitute a distinct class due to the fact that they have a distinct Modus Operandi. In most of the cases the community as a whole suffers economic loss as a result of such offences. These offences take place due to loopholes in the existing legal provisions.

9.1.2 Mumbai City is not only the State Capital but also the economic capital of the country, it generates considerable financial transactions, which attract economic offenders. Other places also have similar problems. Particular attention needs to be given to such offences.

9.1.3. For the purpose of this Chapter, following offences have been categorized as "Economic Offences" or "White Collar Crimes".

1) Criminal Breach of Trust
2) Cheating
3) Forgery
4) Counterfeiting
5) Thefts of Cultural Property
6) Cases under Passport Act
7) Cases under Copyright Act
8) Cases under N.D.P.S. Act

तक्ता क्र. ९.१

सन २०११ ते २०१५ अखेर विविध गुन्हे शीर्षांतर्गत दाखल झालेले आर्थिक गुन्हे

Table No. 9.1

Chart Showing The Registration Of Economic Offences Under Different Heads For The Period From 2011 To 2015

Sr. No.	Offence	Year					% variation during 2015 as compared to	
		2011	2012	2013	2014	2015	2011	2014
1	Criminal Breach Of Trust	1883	1900	2206	1958	2042	8.44	4.29
2	Cheating	9098	9398	10215	9959	10490	15.30	5.33
3	Forgery				1293	1011	-	-21.80
4	Counterfeiting	351	291	242	201	190	-45.86	-5.47
5	Theft Of Cultural Property	1	0	0	0	0	-	-
6	Cases Under Passport Act	65	127	163	69	56	-13.84	-18.84
7	Cases Under Copy Right Act	563	355	366	296	371	-34.10	25.33
8	Cases Under N.D.P.S. Act	1368	1903	2714	14622	18979	1287.35	29.79
	Total	**13329**	**13974**	**15906**	**28398**	**33139**	**148.62**	**16.69**

आर्थिक गुन्हयांचे शीर्षकनिहाय विश्लेषण :-

अन्यायाने विश्वासघात

९.१.४ विश्वासघाताच्या प्रकरणांमध्ये सन २०११ ते २०१५ पर्यंत सन २०१४ चा अपवाद वगळता गुन्हयाचे सातत्य समप्रमाणात दिसुन येते. सन २०११ साली दाखल झालेल्या गुन्हयांची संख्या १८८३ होती तर सन २०१५ मध्ये ती २०४२ एवढी झालेली आहे. २०११ मध्ये दाखल झालेल्या गुन्हयांची तुलना करता २०१५ मध्ये दाखल झालेल्या गुन्हयांत ८.४४% ने वाढ झालेली दिसून येते.

९.१.४.१ राज्यात २०१५ साली दाखल झालेल्या विश्वासघाताच्या एकूण २०४२ गुन्हयापैकी ७३ गुन्हयांत मोठा अपहार झालेला आहे. त्यापैकी १ ते १० कोटीपर्यंतचे (५२) , १० ते २५ कोटीपर्यंतचे (११) , २५ ते ५० कोटीपर्यंतचे (५) , ५० ते १०० कोटीपर्यंतचा (०) , १०० कोटी पेक्षा जास्तचे (५) गुन्हे दाखल झाले आहेत. तक्ता क्र. ४५ मध्ये राज्यातील मोठा अपहार झालेल्या गुन्हयांची माहिती दर्शविण्यात आलेली आहे.

फसवणूक

९.१.५ फसवणुकीच्या प्रकरणांचे प्रमाण सन २०११ ते २०१५ पर्यंत, सातत्याने वाढत असल्याचे दिसून येते. सन २०१५ मधील गुन्हयांची तुलना सन २०११ मधील गुन्हयांशी करता त्यात १५.३०% ने वाढ झाल्याचे दिसून येते. सन २०१४ पेक्षा सन २०१५ मध्ये ५.३३% ने गुन्हयांची वाढ झाल्याचे दिसून येते.

९.१.५.१ राज्यामध्ये फसवणुकीचे सन २०१५ मध्ये एकूण १०४९० गुन्हे दाखल आहेत. त्यामध्ये गंभीर गुन्हे १४६ आहेत. त्यापैकी १ ते १० कोटीपर्यंतच्या फसवणुकीचे १२९ गुन्हे, १० ते २५ कोटींपर्यंतचे १०, २५ ते ५० कोटीपर्यंतचे ३ , ५० ते १०० कोटीपर्यंतचे २ , १०० कोटीपेक्षा जास्त २ असे गुन्हे दाखल झाले आहेत. १४६ गंभीर गुन्हयांमध्ये मुंबई शहर ३३ , पुणे शहर २१ या घटकांचा समावेश आहे.तक्ता क्र ४६ मध्ये राज्यातील मोठा अपहार झालेल्या गुन्हयांची माहिती दर्शविण्यात आलेली आहे.

बनावट

९.१.६ बनावट संदर्भातील दाखल झालेल्या गुन्हयांमध्ये सन २०१५ मध्ये १०११ गुन्हे दाखल झाले आहेत.

The Head-wise Analysis of Economic Offences

Criminal Breach of Trust

9.1.4 There has been increase, except during 2014, in Criminal Breach of Trust cases between the years 2011 to 2015. The number of such offences during the year 2011 were 1883 as compared to 2042 during 2015, which shows an increase by 8.44% as compared to 2011.

9.1.4.1 Out of total 2042 cases of Criminal Breach of Trust registered during 2015 in the State, 73 cases were of big amount fraud. Cases registered of big amount fraud between 1 to 10 crores are (52), 10 to 25 crores are (11), 25 to 50 crores are (5), 50 to 100 crores are (0) and over 100 crores are (5). Information regarding big amount fraud is presented in Table No.45.

Cheating

9.1.5 There has been steady increase in cheating cases between 2011 to 2015. The number of such cases registered during 2015 have increased by 15.30% as compared to 2011 and a increase by 5.33% as compared to 2014 .

9.1.5.1 As many as 10490 cases of cheating have been registered in the State during 2015. Out of them, 146 cases were of serious nature. In 129 cases, the amount involved was between 1 to 10 crores, in 10 cases between 10 to 25 crores, in 3 cases between 25 to 50 crores, in 2 cases between 50 to 100 crores and above 100 crores, there are 2 cases. Out of these 146 cases, 33 cases have been registered in Mumbai (C), followed by Pune (C) 21 . In Table No. 46, the information regarding serious fraud is presented.

Forgery

Total 1011 Incidences have been registered under the Crime Head Forgery in the year 2015.

नकली नाणी व नोटा संदर्भातील गुन्हे

९.१.७ नकली नाणी व नोटांचे संदर्भातील दाखल झालेल्या गुन्हयांमध्ये सन २०११ ते २०१५ मध्ये सातत्याने घट आहे. सन २०१४ मध्ये २०१ व सन २०१५ मध्ये १९० गुन्हे दाखल झालेले असून सन २०१५ ची सन २०१४ शी तुलना करता सन २०१५ मध्ये ५.४७% ने घट झालेली दिसते.

Counterfeiting

9.1.7 There is consistant decrease seen in the offences of Counterfeiting between 2011 to 2015. 201 and 190 cases have been registered during the year 2014 and 2015 respectively showing a decrease by 5.47% in 2015 as compared to 2014.

सांस्कृतिक मालमत्तेची चोरी

९.१.८ सांस्कृतिक मालमत्ता चोरीच्या दाखल झालेल्या गुन्हयामंध्ये सन २०११ ते २०१५ मध्ये उतार झालेला दिसून येतो. सन २०११ मध्ये १ , सन २०१२ मध्ये ० तर सन २०१३, २०१४ व २०१५ मध्ये एकही गुन्हा दाखल झाला नाही.

Thefts of Cultural Objects

9.1.8 The downward trend is seen in the cases of Thefts of Cultural Property between 2011 to 2015. During 2011 (1 case), 2012 (0 case) is registered wheras no offence has been registered during 2013 , 2014 and 2015 under this crime head.

भारतीय पारपत्र कायद्यांतर्गत गुन्हे

९.१.९ गेल्या पाच वर्षांची गुन्हयांची आकडेवारी पाहता, पारपत्र कायद्यांतर्गत गुन्हयामध्ये चढ-उतार झाल्याचे दिसून येते. सन २०११ ते २०१५ मध्ये अनुक्रमे ६५, १२७, १६३, ६९ व ५६ असे गुन्हे दाखल झाले आहेत. २०१४ शी तुलना करता सन २०१५ मध्ये १८.८४% ने घट झालेली दिसून येते.

Cases under Passport Act

9.1.9 During the year 2011 to 2015 fluctuation is observed in the cases under Passport Act. The cases registered between the year 2011 to 2015 were 65, 127,163, 69 and 56 respectively. It shows decrease by 18.84% during the year 2015 as compared to those during 2014.

प्रकाशन हक्क कायद्यांतर्गत गुन्हे

९.१.१० सदर कायद्यांतर्गत नोंदलेल्या गुन्हयांमध्ये सन २०११ ते २०१५ मध्ये चढ-उतार झालेला दिसुन येतो. सन २०११ (५६३) शी तुलना करता सन २०१५ (३७१) मध्ये ३४.१० % ने घट झाल्याचे दिसून येते.

Cases under Copyright Act

9.1.10 Fluctuation is seen in cases in the offences under the Copyright Act between 2011 to 2015. There is a decrease by 34.10% during 2015 (371) as compared to 2011 (563).

अंमली पदार्थ विरोधी कायद्यांतर्गत गुन्हे

९.१.११ सदर कायद्यांतर्गत गुन्हयांमध्ये सन २०११ (१३६८) च्या तुलनेत सन २०१५ (१८९७९) वाढ झाल्याचे दिसून येते. अंमली पदार्थ जप्त केलेल्या गुन्हयांबाबत सविस्तर माहिती खालील तक्ता क्र. ९.२ मध्ये दर्शविण्यात आली आहे.

Cases under N.D.P.S. Act.

9.1.11 The number of cases reported under the N.D.P.S. Act shows an increase during the year 2015 (18979) cases as compared to 2011 (1368). The detailed information of cases under Narcotic Drugs Act is given in the Table No. 9.2 .

तक्ता क्र. ९.२

अंमली पदार्थ विरोधी कायद्यांतर्गत दाखल झालेले गुन्हे (सन २०११ ते २०१५)

Table No. 9.2

Number Of Cases Registered Under N.D.P.S. Act During 2011 - 2015

Sr. No.	Name of Drug	2011	2012	2013	2014	2015
1	Ganja	281	232	224	336	299
2	Heroin	32	45	47	77	51
3	Charas	82	65	66	37	37
4	Opium	19	32	3	6	3
5	Bhang	0	1	9	2	3
6	Cocaine	28	38	43	42	38
7	Methaqualone	0	0	0	2	6
8	Amitamain	0	14	0	0	0
9	Shivamurt	0	0	5	1	0
10	Tarang Pudi	0	12	7	2	0
11	L.S.D Pepar	0	1	0	1	1
12	Ketamine	0	0	1	2	0
13	Popista	2	0	0	0	0
14	Ephidrin	0	0	0	4	0
15	Ganja Mix Manuka	0	0	0	2	1
16	Ganja Mix Tarang Pudi	0	0	0	0	0
17	M.D.M.A	0	0	0	1	0
18	M.D Cristal Powdar	0	0	0	3	3
19	Rescop Shirup	0	0	0	1	0
20	Mendrex Powdar	0	0	0	0	4
21	M Phetamain	0	0	0	27	0
22	MD	0	0	0	0	64
23	MDM Mefedrole	0	0	0	0	29
24	Mefedrone	0	0	0	0	2
25	MD Methedrone	0	0	0	0	5
26	Transperent Liquid Bottle	0	0	0	0	1
	Total	**444**	**440**	**405**	**546**	**547**

९.२.१ उपरोक्त नमूद तक्ता सन २०११ ते २०१५ चे दरम्यान निरनिराळया अंमली पदार्थ जप्त केलेल्या दाखल गुन्हयांची संख्या दर्शवितो.

9.2.1 The figures presented in above table shows the cases under N.D.P.S Act, in which different types of Narcotic Drugs have been seized from 2011 to 2015.

९.२.२ सन २०११ ते २०१५ मध्ये अंमली पदार्थ जप्त केलेल्या एकूण दाखल गुन्हयांचा संमिश्र कल दिसतो. सन २०११ (४४४) च्या तुलनेत सन २०१५ (५४७) मध्ये २३.२० % ने वाढ झाल्याचे दिसून येते. अंमली पदार्थ विरोधी कायद्यांतर्गत प्रत्येक दिवसाचे दाखल गुन्हयांचे प्रमाण २०११ साली व २०१५ साली १.५० इतके आहे.

9.2.2 A mixed trend is observed between the years 2011 to 2015. Total 547 cases have been registered during 2015 as compared to 444 during the year 2011, which shows an increase by 23.20 %. On an average 1.50 cases of Narcotic Drugs have been registered per day during 2015 and 2011.

९.२.३ वर दिलेल्या तक्त्याचे निरीक्षण करता ५ वर्षात गांजा जप्तीचे गुन्हे जास्त आहेत. त्या खालोखाल चरस व हेरॉईन जप्तीचे गुन्हे आहेत. २०१५ मध्ये गांजा जप्तीचे गुन्ह्यांत २०१४ पेक्षा ११ % ने घट झाली आहे.

9.2.3 From the above table it is observed that during five years most of the seizures were of Ganja followed by Charas and Heroin. However, the percentage of seizures of Ganja cases has decreased by 11% during the year 2015 as compared to those during 2014.

तक्ता क्र ९.३

सन २०११ ते २०१५ सालात जप्त केलेले अमली पदार्थ (किलो मध्ये)

Table No. 9.3

Quantity Of Narcotic Drugs Seized In 2011 To 2015 (In Kgs.)

Sr. No.	Drugs	2011	2012	2013	2014	2015
1	Ganja	3979.7	5469.9	4864.4	5032.8	4826.2
2	Heroin	7.4	5.2	5.8	3.8	233.2
3	Charas	133	192.1	171.7	25.4	48.3
4	Opium	321.3	55002.4	31.3	56.5	271.7
5	Bhang	0.4	35	487	2525.6	37.2
6	Cocine	2.9	4.3	1.8	1.5	2.8
7	Methaqualone	32(Tab)	0	0	5.1	0.7
8	Amitamain	0	1.9	0	0	0
9	Shivamurt	0	0	317.7	26.1	0
10	Tarang Pudi	0	5408 (Pudi)	550 (Pudi)	1.5	0
11	L.S.D. Paper	0	30 (Paper)	18 (Paper)	440 (Paper)	0.000097
12	Ketamine	0	0	13	4.3	0

13	Popista	170	0	0		0
14	Ephidrin	0	0	0	7.7	0
15	Ganja Mix Manuka	0	0	0	1.8	3.6
16	Ganja Mix Tarang Pudi	0	0	0	31.0	0.0
17	M.D.M.A	0	0	0	0.7	0
18	M.D Cristal Powdar	0	0	0	0.2	0.1
19	Rescop Shirup	0	0	0	3200 Bottles	0
20	Mendrex Powdar	0	0	0	0.7	0.1
21	M Phetamain	0	0	0	2.3	0
22	MD	0	0	0	0	15.1
23	MD Mefadrone					1.2
24	Methedrone					112.3
25	MD Methedrone	0	0	0	2.3	0.1
26	Transferent Liquid	0	0	0	2.3	640 Bottles

९.३.१ वर नमूद तक्ता क्र. ९.३ सन २०११ ते २०१५ चे दरम्यान राज्यामध्ये पोलिसांनी टाकलेल्या धाडीमध्ये जप्त करण्यात आलेल्या विविध अंमली पदाथाची माहिती प्रमाण दर्शवितो.

९.३.२ निरनिराळया अंमली पदार्थाच्या जप्त प्रमाणाचे विश्लेषण करता, हेरॉईन या अंमली पदार्थ जप्तीच्या प्रमाणात सन २०१४ (३.८ कि.ग्रॅ.) च्या तुलनेत सन २०१५ (२३३.२ कि. ग्रॅ.) मध्ये ६०३६.८ % ने वाढ झालेली दिसते. अफु जप्तीच्या प्रमाणात २०११ साली (३२१.३६ कि.ग्रॅ.) च्या तुलनेत २०१५ साली (२७१.७ कि. ग्रॅ.) अशी घट झालेली आहे. गांजा जप्तीच्या प्रमाणात सन २०११ (३९७९.७ किलो) च्या तुलनेत सन २०१५ (४८२६.२ किलो) म्हणजेच २१.२७% वाढ झालेली आहे. चरस जप्तीच्या प्रमाणात सन २०१४ च्या तुलनेत सन २०१५ मध्ये वाढ झालेली दिसुन येते. भांग जप्तीच्या प्रमाणात सन २०११ (०.४ कि.ग्रॅ.) च्या तुलनेत सन २०१५ (३७.२ कि.ग्रॅ.) अशी वाढ झाल्याचे दिसून येते.

सन २०१५ मध्ये एमडी, एमडी मेफॅड्रोन, मेफॅड्रोन, एमडी मॅथेड्रोन व ट्रान्सपरन्ट लिक्वीड हे अंमली पदार्थ जप्त करण्यात आले आहे.

9.3.1 Table No. 9.3 provides information regarding the quantity of various narcotic drugs seized in raids conducted by Police, during the period from 2011 to 2015.

9.3.2 An analysis of the seized narcotic drugs under different categories it can be observed that the seizure of Heroin during the year 2015 (233.2 kg) has increased by 6036.8 % as compared to the year 2014 (3.8 kg). There was decrease in seizure of Opium 321.36 kg during 2011 to 271.7 kg during 2015. There was an increase in seizuar of Ganga 4826.2 kg during 2015 to 3979.7 during 2011. It shows a increase by 21.27%. There was an increase in the seizure of Charas from 2014 to 2015. In case of Bhang, the seizure has increased during the year 2015 (37.2kg) as compared to 2011 (0.4) kg.

During 2015 MD, MD Mefadrone, Mefadrone, MD Methedrone and Transperant Liquid have been seized.

तक्ता क्र. ९.४

सन २०११ ते २०१५ मध्ये जप्त केलेल्या अंमली पदार्थाची किंमत (रुपये हजारात)

Table No. 9.4

Seizure Of Narcotic Drugs In 2011 To 2015 (Value In Thousands)

Sr. No.	DRUGS	2011	2012	2013	2014	2015
1	Ganja	11670	8979	15077	24921	43132
2	Heroin	7023	2302	8585	11589	77678
3	Charas	12005	4114	23135	2998	5925
4	Opium	3016	38050	1682	738	472
5	Bhang	0.4	357	108	441	46
6	Cocine	10661	2915	11799	7364	18085
7	Methaqualone	6400	0	0	631	1108
8	Amitamain	0	3515	0	0	0
9	Shivamurt	0	0	11	25	0
10	Tarang Pudi	0	13	2570	12	0
11	L.S.D. Pepar	0	40	14	60	2910
12	Ketamine	0	0	4550	27905	0
13	Popista	170	0	0	0	0
14	Ephidrin	0	0	0	571	0
15	Ganja Mix Manuka	0	0	0	116	36
16	Ganja Mix Tarang Pudi	0	0	0	14	0
17	M.D.M.A	0	0	0	528	0
18	M.D Cristal Powdar	0	0	0	1411	72
19	Rescop Shirup	0	0	0	384	0
20	Mendrex Powdar	0	0	0	125	139
21	M Phetamain	0	0	0	8132	0
22	MD	0	0	0	0	33036
23	MD Mefadrone	0	0	0	0	2644
24	Mefadrone	0	0	0	0	224091
25	MD Methedrone	0	0	0	0	145
26	Tansperant Liquid (Bottle)	0	0	0	0	32
	Total	**50945.4**	**60285**	**67531**	**87965**	**409551**

९.४.१ वर नमुद तक्ता सन २०११ ते २०१५ च्या दरम्यान जप्त करण्यात आलेल्या निरनिराळया अंमली पदार्थाच्या किंमतीचा आहे .

9.4.1 The above table provides information about the value of Narcotic Drugs seized during the period from 2011 to 2015

९.४.२ सन २०१४ मध्ये जप्त करण्यात आलेल्या अंमली पदार्थाचे वजन ७७२७ कि.ग्रॅ असुन त्याची किमंत ८७९.६५ लाख रुपये इतकी होती. तर सन २०१५ मध्ये जप्त अंमली पदार्थाचे वजन ५८९२.७ कि.ग्रॅ व त्याची किंमत ४०९५.५१ लाख रुपये असुन सन २०१४ च्या तुलनेत अंमली पदार्थ जप्तीच्या प्रमाणात २३.७३ % ने घट व तर किमंती मध्ये ३६५.५८ % वाढ झालेली दिसुन येते.

9.4.2 The Narcotic drugs seized during the year 2014 were 7727 kgs, which vauled for Rs.779.65 Lakhs. During the year 2015 Narcotic drugs seized were 5892.7 kgs, which valued for Rs. 4095.51 Lakhs. During the year 2015, seized quantity of Narcotic drugs has decreased by 23.73 % and value has increased by 365.58% as compared to 2014.

तक्ता क्र ९.५

अंमली पदार्थ विरोधी कायदयातंर्गत अटक केलेले आरोपी सन २०११ ते २०१५

Table No. 9.5

Accused Arrested Under N.D.P.S. Act During The Year 2011 To 2015

Sr. No.	Drugs	2011		2012		2013		2014		2015	
		IND	FOR	IND	FOR	IND	FOR	IND	FOR	IND	FOR
1	Ganja	374	0	347	0	298	0	409	0	380	0
2	Heroin	39	0	61	0	67	0	97	2	57	8
3	Charas	121	0	100	0	92	2	45	0	40	0
4	Opium	37	0	72	0	5	0	15	0	3	0
5	Bhang	0	0	1	0	10	0	3	0	2	0
6	Cocaine	15	30	4	59	8	49	1	44	7	42
7	Methaqualone	2	0	0	0	0	0	2	1	10	10
8	Amitamin	0	0	0	21	0	0	0	0	0	0
9	Shivamurt	0	0	0	0	5	0	1	0	0	0
10	Tarang pudi	0	0	14	0	7	0	2	0	0	0
11	L.S.D.Pepar	0	0	2	0	0	0	1	0	2	0
12	Ketamine	0	0	0	0	3	0	7	0	0	0
13	Popista	3	0	0	0	0	0	0	0	0	0
14	Ephidrin	0	0	0	0	0	0	2	3	0	0
15	Ganja Mix Manuka	0	0	0	0	0	0	2	0	2	0
16	Ganja Mix Tarang Pudi	0	0	0	0	0	0	0	0	0	0
17	M.D.M.A	0	0	0	0	0	0	5	0	0	0
18	M.D Cristal Powdar	0	0	0	0	0	0	0	0	6	0
19	Rescop Shirup	0	0	0	0	0	0	3	0	0	0

20	Mendrex Powdar	0	0	0	0	0	0	6	0	2	0
21	M Phetamain	0	0	0	0	0	0	40	0	0	0
22	MD	0	0	0	0	0	0	0	0	92	3
23	MD Mefadrone	0	0	0	0	0	0	0	0	31	0
24	Mefadrone	0	0	0	0	0	0	0	0	1	0
25	MD Methedrone	0	0	0	0	0	0	0	0	6	0
26	Transperant Liquid	0	0	0	0	0	0	0	0	0	0
	Total	**591**	**30**	**601**	**80**	**495**	**51**	**641**	**50**	**641**	**63**

***IND = Indian & FOR = Foreigner**

९.५.१ वर दर्शविलेल्या तक्त्यामध्ये सन २०११ ते २०१५ चे दरम्यान अंमली पदार्थ विरोधी कायद्यांतर्गत दाखल गुन्हयांमध्ये अटक केलेल्या आरोपींची संख्या दर्शविली आहे.

९.५.२ सन २०११ मध्ये अमली पदार्थ कायद्यांतर्गत ३० परदेशी व्यक्तीसह एकूण ६२१ आरोपी अटक करण्यात आले होते . २०१५ मध्ये ६३ परदेशी नागरिकांसह एकूण ७०४ आरोपी अटक करण्यात आले. सन २०११ ते २०१५ पर्यंत आरोपींच्या अटक संख्येत चढ-उतार दिसुन येतो.

9.5.1 The above figures provide information about the persons arrested during the period from 2011 to 2015 in N.D.P.S. Act cases.

9.5.2 During 2011 total 621 persons have been arrested under N.D.P.S. Act, including 30 foreigners. During 2015 in all 704 persons have been arrested for such offences, including 63 foreigners. There is an fluctuation in the number of persons arrested from 2011 to 2015.

तक्ता क्र. ९.६

सांस्कृतिक मालमत्ता चोरीचे गुन्हे (गुन्हेसंख्या - चोरीस गेलेली व हस्तगत केलेली)

Table No. 9.6

Thefts Of Cultural Property
(Number Of Cases , Property Stolen & Recovered)

Sr. No.	Year	Number of Cases involving cultural property		Value of Property	
		Stolen	Recovered	Stolen	Recovered
1	2011	1	1	519750	519750
2	2012	0	0	0	0
3	2013	0	0	0	0
4	2014	0	0	0	0
5	2015	0	0	0	0

सांस्कृतिक मालमत्ता (गुन्हे संख्या / चोरीस गेलेली / हस्तगत केलेली मालमत्ता)

९.६.१ वर नमूद तक्त्या मधील आकडेवारी सन २०११ ते २०१५ च्या दरम्यान सांस्कृतिक मालमत्तेच्या चोरीबाबतच्या गुन्हयांची संख्या, चोरीस गेलेल्या व परत हस्तगत केलेल्या मालमत्तेचे मुल्य इत्यादी बाबतची माहिती दर्शविते.

९.६.२ सांस्कृतिक मालमत्तेच्या चोरीबाबतच्या दाखल झालेल्या गुन्हयांमध्ये सन २०११ ते २०१५ मध्ये चढ-उतार झालेला दिसतो. सन २०११ मध्ये १ तर सन २०१२ , २०१३ , २०१४ व २०१५ मध्ये एकही गुन्हा दाखल नाही.

Cultural Property (Cases, Property Stolen & Recovered)

9.6.1 The information presented in the above table gives information on reported cases of Theft of Cultural Property stolen / recovered and the value of property stolen / recovered during the period from 2011 to 2015.

9.6.2 The fluctuation is seen in the cases of Theft of Cultural Property between 2011 to 2015.
During 2011 (1) case have been registered. Where as no case is registered in 2012, 2013, 2014 & 2015.

तक्ता क्र. ४५

अन्यायाने विश्वासघात या गुन्हे शीर्षांतर्गत गंभीर अपहाराच्या गुन्हयाची सन २०१५ ची घटक-निहाय माहिती

Table No. 45

Criminal Breach of Trust- serious fraud cases during 2015, Unit-wise

Sr. No.	Unit	No. Of Reported Cases Where The Loss Of Property Under Criminal Breach Of Trust Worth Rs					
		1-10 Crore	10-25 Crore	25-50 Crore	50-100 Crore	Above 100 Crore	Total
1	2	3	4	5	6	7	8
1	Akola	0	0	0	0	0	0
2	Amravati Rural	0	0	0	0	0	0
3	Buldhana	0	0	0	0	0	0
4	Yavatmal	0	0	0	0	0	0
5	Washim	0	0	0	0	0	0
*	**Amravati Range**	**0**	**0**	**0**	**0**	**0**	**0**
6	Aurangabad Rural	0	0	0	0	0	0
7	Jalna	0	0	0	0	0	0
8	Beed	0	0	0	0	0	0
9	Osmanabad	0	0	0	0	0	0
*	**Aurangabad Range**	**0**	**0**	**0**	**0**	**0**	**0**
10	Nanded	0	0	0	0	0	0
11	Latur	0	0	0	0	0	0
12	Parbhani	0	0	0	0	0	0
13	Hingoli	0	0	0	0	0	0
*	**Nanded Range**	**0**	**0**	**0**	**0**	**0**	**0**
14	Kolhapur	0	1	0	0	0	1
15	Pune Rural	**0**	**0**	**0**	**0**	**0**	**0**
16	Sangli	1	0	0	0	0	1
17	Satara	2	1	0	0	0	3
18	Solapur Rural	0	0	0	0	0	0
*	**Kolhapur Range**	**3**	**2**	**0**	**0**	**0**	**5**
19	Bhandara	2	0	0	0	0	2
20	Chandrapur	0	0	0	0	0	0
21	Nagpur Rural	0	0	0	0	0	0
22	Wardha	0	0	0	0	0	0
*	**Nagpur Range**	**2**	**0**	**0**	**0**	**0**	**2**
23	Gadchiroli	0	0	0	0	0	0
24	Gondia	0	0	0	0	0	0
*	**Gadchiroli Range**	**0**	**0**	**0**	**0**	**0**	**0**
25	Ahmednagar	0	0	0	0	0	0
26	Dhule	0	0	0	0	0	0
27	Jalgaon	0	0	0	0	0	0
28	Nasik Rural	3	0	0	0	0	3
29	Nandurbar	0	0	0	0	0	0
*	**Nasik Range**	**3**	**0**	**0**	**0**	**0**	**3**
30	Raigad	0	0	0	0	0	0
31	Ratnagiri	0	0	0	0	0	0
32	Sindhudurg	2	0	0	0	0	2
33	Thane Rural	0	0	0	0	0	0
34	Palghar	0	0	0	0	0	0
*	**Thane Range**	**2**	**0**	**0**	**0**	**0**	**2**
35	Mumbai Railway	0	0	0	0	0	0
36	Pune Railway	0	0	0	0	0	0
37	Nagpur Railway	0	0	0	0	0	0
*	**Railway Range**	**0**	**0**	**0**	**0**	**0**	**0**
38	Nagpur Commr.	0	0	0	0	0	0
39	Pune Commr.	1	0	0	0	0	1
40	Thane Commr.	0	1	0	0	0	1
41	Mumbai Commr.	40	8	5	0	5	58
42	Nasik Commr.	0	0	0	0	0	0
43	Aurangabad Commr.	0	0	0	0	0	0
44	Solapur Commr.	0	0	0	0	0	0
45	Navi Mumbai	1	0	0	0	0	1
46	Amravati Commr.	0	0	0	0	0	0
*	**Total Commrs.**	**42**	**9**	**5**	**0**	**5**	**61**
*	**Total of M.S**	**52**	**11**	**5**	**0**	**5**	**73**

तक्ता क्र. ४६

फसवणूक या गुन्हे शीर्षांतर्गत गंभीर अपहाराच्या गुन्हयाची सन २०१५ ची घटक-निहाय माहिती

Table No. 46

Cheating - serious fraud cases during 2015, Unit-wise

S.No.	Unit	No. Of Reported Cases Where The Loss Of Property Under Cheating Worth Rs.					
		1-10 Crore	10-25 Crore	25-50 Crore	50-100 Crore	Above 100 Crore	Total
1	2	9	10	11	12	13	14
1	Akola	0	0	0	0	0	0
2	Amravati Rural	0	0	0	0	0	0
3	Buldhana	1	1	0	0	0	2
4	Yavatmal	0	0	0	0	0	0
5	Washim	0	0	0	0	0	0
*	**Amravati Range**	**1**	**1**	**0**	**0**	**0**	**2**
6	Aurangabad Rural	0	0	0	0	0	0
7	Jalna	0	0	0	0	0	0
8	Beed	0	0	0	0	0	0
9	Osmanabad	0	0	0	0	0	0
*	**Aurangabad Range**	**0**	**0**	**0**	**0**	**0**	**0**
10	Nanded	0	0	0	0	0	0
11	Latur	0	0	0	0	0	0
12	Parbhani	4	0	0	0	0	4
13	Hingoli	2	0	0	0	0	2
*	**Nanded Range**	**6**	**0**	**0**	**0**	**0**	**6**
14	Kolhapur	4	0	0	0	0	4
15	Pune Rural	8	0	0	0	0	8
16	Sangli	5	0	0	0	0	5
17	Satara	1	1	0	0	0	2
18	Solapur Rural	3	1	0	0	0	4
*	**Kolhapur Range**	**21**	**2**	**0**	**0**	**0**	**23**
19	Bhandara	1	0	0	0	0	1
20	Chandrapur	0	0	0	0	0	0
21	Nagpur Rural	2	0	0	0	0	2
22	Wardha	0	0	0	0	0	0
*	**Nagpur Range**	**3**	**0**	**0**	**0**	**0**	**3**
23	Gadchiroli	0	0	0	0	0	0
24	Gondia	0	0	0	0	0	0
*	**Gadchiroli Range**	**0**	**0**	**0**	**0**	**0**	**0**
25	Ahmednagar	0	0	0	0	0	0
26	Dhule	4	0	0	0	0	4
27	Jalgaon	0	0	0	0	0	0
28	Nasik Rural	1	0	0	0	0	1
29	Nandurbar	0	0	0	0	0	0
*	**Nasik Range**	**5**	**0**	**0**	**0**	**0**	**5**
30	Raigad	0	0	0	0	0	0
31	Ratnagiri	0	0	0	0	0	0
32	Sindhudurg	0	0	0	0	0	0
33	Thane Rural	6	0	0	0	0	6
34	Palghar	0	1	0	0	0	1
*	**Thane Range**	**6**	**1**	**0**	**0**	**0**	**7**
35	Mumbai Railway	0	0	0	0	0	0
36	Pune Railway	0	0	0	0	0	0
37	Nagpur Railway	0	0	0	0	0	0
*	**Railway Range**	**0**	**0**	**0**	**0**	**0**	**0**
38	Nagpur Commr.	9	0	0	0	0	9
39	Pune Commr.	11	0	0	1	0	12
40	Thane Commr.	11	0	0	0	0	11
41	Mumbai Commr.	14	4	1	0	2	21
42	Nasik Commr.	3	0	0	0	0	3
43	Aurangabad Commr.	9		0	0	0	9
44	Solapur Commr.	1	0	0	0	0	1
45	Navi Mumbai	28	2	2	1	0	33
46	Amravati Commr.	1	0	0	0	0	1
*	**Total Commrs.**	**87**	**6**	**3**	**2**	**2**	**100**
*	**Total of M.S**	**129**	**10**	**3**	**2**	**2**	**146**

तक्ता क्र. ४६ (अ)

बनावट / नकली नाणी व नोटा या गुन्हे शीर्षांतर्गत गंभीर अपहाराच्या गुन्हयाची सन २०१५ ची घटक-निहाय माहिती

Table No. 46 (A)

Fraud/ forger - serious fraud cases during 2015, Unit-wise

S.No.	Unit	No. Of Reported Cases Where The Loss Of Property Under Fraud/forgery Worth Rs					
		1-10 Crore	10-25 Crore	25-50 Crore	50-100 Crore	Above 100 Crore	Total
1	2	15	16	17	18	19	20
1	Akola	0	0	0	0	0	0
2	Amravati Rural	0	0	0	0	0	0
3	Buldhana	0	0	0	0	0	0
4	Yavatmal	0	0	0	0	0	0
5	Washim	0	0	0	0	0	0
*	**Amravati Range**	**0**	**0**	**0**	**0**	**0**	**0**
6	Aurangabad Rural	0	0	0	0	0	0
7	Jalna	0	0	0	0	0	0
8	Beed	0	0	0	0	0	0
9	Osmanabad	0	0	0	0	0	0
*	**Aurangabad Range**	**0**	**0**	**0**	**0**	**0**	**0**
10	Nanded	0	0	0	0	0	0
11	Latur	0	0	0	0	0	0
12	Parbhani	0	0	0	0	0	0
13	Hingoli	0	0	0	0	0	0
*	**Nanded Range**	**0**	**0**	**0**	**0**	**0**	**0**
14	Kolhapur	0	0	0	0	0	0
15	Pune Rural	0	0	0	0	0	0
16	Sangli	0	0	0	0	0	0
17	Satara	0	0	0	0	0	0
18	Solapur Rural	0	0	0	0	0	0
*	**Kolhapur Range**	**0**	**0**	**0**	**0**	**0**	**0**
19	Bhandara	1	0	0	0	0	1
20	Chandrapur	0	0	0	0	0	0
21	Nagpur Rural	0	0	0	0	0	0
22	Wardha	0	0	0	0	0	0
*	**Nagpur Range**	**1**	**0**	**0**	**0**	**0**	**1**
23	Gadchiroli	0	0	0	0	0	0
24	Gondia	0	0	0	0	0	0
*	**Gadchiroli Range**	**0**	**0**	**0**	**0**	**0**	**0**
25	Ahmednagar	0	0	0	0	0	0
26	Dhule	0	0	0	0	0	0
27	Jalgaon	0	0	0	0	0	0
28	Nasik Rural	0	0	0	0	0	0
29	Nandurbar	0	0	0	0	0	0
*	**Nasik Range**	**0**	**0**	**0**	**0**	**0**	**0**
30	Raigad	0	0	0	0	0	0
31	Ratnagiri	0	0	0	0	0	0
32	Sindhudurg	0	0	0	0	0	0
33	Thane Rural	0	0	0	0	0	0
34	Palghar	0	0	0	0	0	0
*	**Thane Range**	**0**	**0**	**0**	**0**	**0**	**0**
35	Mumbai Railway	0	0	0	0	0	0
36	Pune Railway	0	0	0	0	0	0
37	Nagpur Railway	0	0	0	0	0	0
*	**Railway Range**	**0**	**0**	**0**	**0**	**0**	**0**
38	Nagpur Commr.	0	0	0	0	0	0
39	Pune Commr.	0	0	0	0	0	0
40	Thane Commr.	0	0	0	0	0	0
41	Mumbai Commr.	12	1	0	1	0	14
42	Nasik Commr.	0	0	0	0	0	0
43	Aurangabad Commr.	0	0	0	0	0	0
44	Solapur Commr.	0	0	0	0	0	0
45	Navi Mumbai	0	0	0	0	0	0
46	Amravati Commr.	0	0	0	0	0	0
*	**Total Commrs.**	**12**	**1**	**0**	**1**	**0**	**14**
*	**Total of M.S**	**13**	**1**	**0**	**1**	**0**	**15**

Chapter – 9.1

Information on cases of Anti Corruption Department

Annual Statement Of Cognizable Crime (Cases) Registered Under The Prevention Of Corruption Act And Related Section Of I.P.C. During The Year 2015.

Sr. No	Heads	Total	
		Year 2014	Year 2015
1	Number of cases pending investigation from previous year.	848	1049
2	Number of cases registered during the year.	1316	1279
3	Total Number of cases for investigation during the year.	2164	2328
4	Number of cases investigated during the year.	2164	2328
5	Number of cases not investigated/or in which investigation was dropped due to any reason during the year.	6	1
6	Number of cases transferred to local Police during the year.	0	0
7	Number of cases declared false, mistake of fact or of law or non-cognizable or civil in nature.	0	0
8	Number of cases in which Charge Sheets were laid during the year.	1059	1359
9	Number of cases pending Departmental Sanction for prosecution during the year.	368	247
10	Number of cases sent up for trial and also reported for Departmental Action during the year.	0	0
11	Number of cases reported for Regular Departmental Action during the year.	1	0
12	Number of cases reported for Suitable Action during the year.	0	0
13	Number of cases in which Charge Sheets were not laid but Final Report submitted during the year.	18	14
14	Number of cases pending investigation at the end of the year.	912	956
15	Number of cases resulted in recoveries of seizures during the year.	534	450
16	Value of property recovered/seized during the year (in Rs.)	34910468	165269031
17	Percentage of cases Charge Sheeted to total cases investigated.	49%	58%
18	Number of cases pending trial from the previous year.	2268	3080
19	Number of cases sent up for trial during the year.	1059	1359
20	Total Number of cases for trial during the year.	3327	4439
21	Number of cases withdrawn or otherwise disposed off on account of death of the accused during the year.	9	20
22	Number of cases in which trials were completed during the year.	243	523
23	Number of cases Convicted during the year.	69	121
24	Number of cases Acquitted or Discharged during the year.	174	402
25	Number of cases pending trial at the end of the year.	3075	3896
26	Percentage of cases Convicted to cases in which trials were completed during the year.	28%	23%
27	**Total amount of Fine imposed during the year (in Rs.)**	**809500**	**1106000**

Annual Statement Of Persons Arrested In Cognizable Crime Cases Registered Under The Prevention Of Corruption Act And Related Section Of I.P.C. During The Year 2015.

Sr. No.	Heads	Total	
		Year 2014	Year 2015
1	Number of persons in custody or on bail during the stage of investigation at the beginning of the year.	1088	1550
2	Number of persons arrested during the year.	1867	1693
3	Number of persons released or freed by Police or Magistrate before trial for want of evidence or any other reason during the year.	16	2
4	Number of persons in custody or on bail during the stage of investigation at the end of the year.	1409	1268
5	Number of persons in whose cases Charge Sheet were laid during the year.	1528	1973
6	Number of persons Under Trial at the beginning of the year.	3532	4794
7	Total Number of persons under trial during the year.	5060	6767
8	Number of persons whose cases were withdrawn or otherwise disposed off during the year.	0	43
9	Number of persons in custody or on bail during the stage of trial at the end of the year.	4440	6028
10	Number of persons in whose cases trials were completed during the year.	620	696
11	Number of persons Convicted during the year.	85	139
12	Number of persons Acquitted during the year.	535	557
13	Percentage of persons convicted to total persons in whose cases trials were completed during the year.	14%	20%
14	Number of persons involved in the cases reported for Regular Departmental Action during the year.	1	1
15	Number of persons involved in the cases reported for Suitable Action during the year.	0	
16	Number of persons punished Departmentally during the year :	0	1
	(i) Number of persons Dismissed from service during the year.	0	0
	(ii) Number of persons Removed from service during the year.	0	1
	(iii) Number of persons awarded other Major Punishments during the year.	0	0
	(iv) Number of persons awarded Minor Punishments during the year.	0	0
17	Number of Gazetted Officers and Other Public Servants of equivalent status working in Govt. Departments and Public Undertakings involved during the year.	357	277
	(i) Number of Group 'A' Officers out of above.	152	126
	(ii) Number of Group 'B' Officers out of above.	205	151
18	Number of Non-Gazetted Officers and Other Public Servants of equivalent status working in Govt. Departments and Public Undertakings involved during the year.	1122	1141
19	Number of Private Persons involved during the year.	293	275

ANNUAL STATEMENT OF COGNIZABLE CRIME (CASES) REGISTERED UNDER THE PREVENTION OF CORRUPTION ACT AND RELATED SECTION OF I.P.C. DURING THE YEAR 2015.

Sr. No	Heads	Mumbai	Thane	Pune	Nashik	Nagpur	A'vati	A'bad	Nanded	Total
1	Number of cases pending investigation from previous year.	148	147	185	140	155	123	114	37	1049
2	Number of cases registered during the year.	72	156	221	200	182	141	185	122	1279
3	Total Number of cases for investigation during the year.	220	303	406	340	337	264	299	159	2328
4	Number of cases investigated during the year.	220	303	406	340	337	264	299	159	2328
5	Number of cases not investigated/or in which investigation was dropped due to any reason during the year.	0	0	0	0	0	1	0	0	1
6	Number of cases transferred to local Police during the year.	0	0	0	0	0	0	0	0	0
7	Number of cases declared false, mistake of fact or of law or non-cognizable or civil in nature.	0	0	0	0	0	0	0	0	0
8	Number of cases in which Charge Sheets were laid during the year.	92	167	257	217	183	158	158	127	1359
9	Number of cases pending Departmental Sanction for prosecution during the year.	24	44	32	33	28	27	41	18	247
10	Number of cases sent up for trial and also reported for Departmental Action during the year.	0	0	0	0	0	0	0	0	0
11	Number of cases reported for Regular Departmental Action during the year.	0	0	0	0	0	0	0	0	0
12	Number of cases reported for Suitable Action during the year.	0	0	0	0	0	0	0	0	0
13	Number of cases in which Charge Sheets were not laid but Final Report submitted during the year.	5	2	3	2	0	0	2	0	14
14	Number of cases pending investigation at the end of the year.	123	136	146	121	154	105	139	32	956
15	Number of cases resulted in recoveries of seizures during the year.	52	135	194	1	66	2	0	0	450
16	Value of property recovered/seized during the year (in Rs.)	261200	10927057	5750368	139013081	5694930	410455	1615330	1596610	165269031
17	Percentage of cases Charge Sheeted to total cases investigated.	42%	55%	63%	64%	54%	60%	53%	80%	58%
18	Number of cases pending trial from the previous year.	150	420	558	389	521	338	408	296	3080
19	Number of cases sent up for trial during the year.	92	167	257	217	183	158	158	127	1359
20	Total Number of cases for trial during the year.	242	587	815	606	704	496	566	423	4439
21	Number of cases withdrawn or otherwise disposed off on account of death of the accused during the year.	4	5	0	1	5	1	3	1	20
22	Number of cases in which trials were completed during the year.	62	33	184	93	60	10	56	25	523
23	Number of cases Convicted during the year.	5	9	45	26	12	1	17	6	121
24	Number of cases Acquitted or Discharged during the year.	57	24	139	67	48	9	39	19	402
25	Number of cases pending trial at the end of the year.	176	549	631	512	639	485	507	397	3896
26	Percentage of cases Convicted to cases in which trials were completed during the year.	8%	27%	24%	28%	20%	10%	30%	24%	23%
27	**Total amount of Fine imposed during the year (in Rs.)**	**47,000**	**42500**	**355,000**	**367,000**	**177,000**	**5000**	**53,500**	**59,000**	**1106000**

Annual Statement Of Persons Arrested In Cognizable Crime (Cases) Registered Under The Prevention Of Corruption Act And Related Section Of I.P.C. During The Year 2015.

Sr. No	Heads	Mumbai	Thane	Pune	Nashik	Nagpur	A'vati	A'bad	Nanded	Total
1	Number of persons in custody or on bail during the stage of investigation at the beginning of the year.	114	175	292	195	248	194	224	108	1550
2	Number of persons arrested during the year.	113	222	279	259	229	199	234	158	1693
3	Number of persons released or freed by Police or Magistrate before trial for want of evidence or any other reason during the year.	1	0	0	0	0	1	0	0	2
4	Number of persons in custody or on bail during the stage of investigation at the end of the year.	81	142	197	165	210	175	194	104	1268
5	Number of persons in whose cases Charge Sheet were laid during the year.	145	255	374	289	267	217	264	162	1973
6	Number of persons Under Trial at the beginning of the year.	413	849	875	524	761	498	496	378	4794
7	Total Number of persons under trial during the year.	558	1104	1249	813	1028	715	760	540	6767
8	Number of persons whose cases were withdrawn or otherwise disposed off during the year.	30	5	0	1	0	3	3	1	43
9	Number of persons in custody or on bail during the stage of trial at the end of the year.	411	1058	1008	701	951	703	684	512	6028
10	Number of persons in whose cases trials were completed during the year.	117	41	241	111	77	9	73	27	696
11	Number of persons Convicted during the year.	7	11	53	29	13	1	18	7	139
12	Number of persons Acquitted during the year.	110	30	188	82	64	8	55	20	557
13	Percentage of persons convicted to total persons in whose cases trials were completed during the year.	6%	27%	22%	26%	17%	11%	25%	26%	20%
14	Number of persons involved in the cases reported for Regular Departmental Action during the year.	1	0	0	0	0	0	0	0	1
15	Number of persons involved in the cases reported for Suitable Action during the year.									0
16	Number of persons punished Departmentally during the year :	0	0	0	0	0	0	0	0	0
	(i) Number of persons Dismissed from service during the year.									0
	(ii) Number of persons Removed from service during the year.	1								1
	(iii) Number of persons awarded other Major Punishments during the year.									0
	(iv) Number of persons awarded Minor Punishments during the year.									0
17	Number of Gazetted Officers and Other Public Servants of equivalent status working in Govt. Departments and Public Undertakings involved during the year.	113	222	279	259	229	199	234	158	1693
	(i) Number of Group 'A' Officers out of above.	23	24	16	22	17	5	14	5	126
	(ii) Number of Group 'B' Officers out of above.	10	33	26	19	17	20	15	11	151
18	Number of Non-Gazetted Officers and Other Public Servants of equivalent status working in Govt. Departments and Public Undertakings involved during the year.	39	129	188	186	173	151	149	126	1141
19	Number of Private Persons involved during the year.	41	36	49	32	22	23	56	16	275

NO OF CASES REGISTERED AND PERSONS ARRESTED UNDER PREVENTION OF CORRUPTION ACT -YEAR 2011 TO 2015.

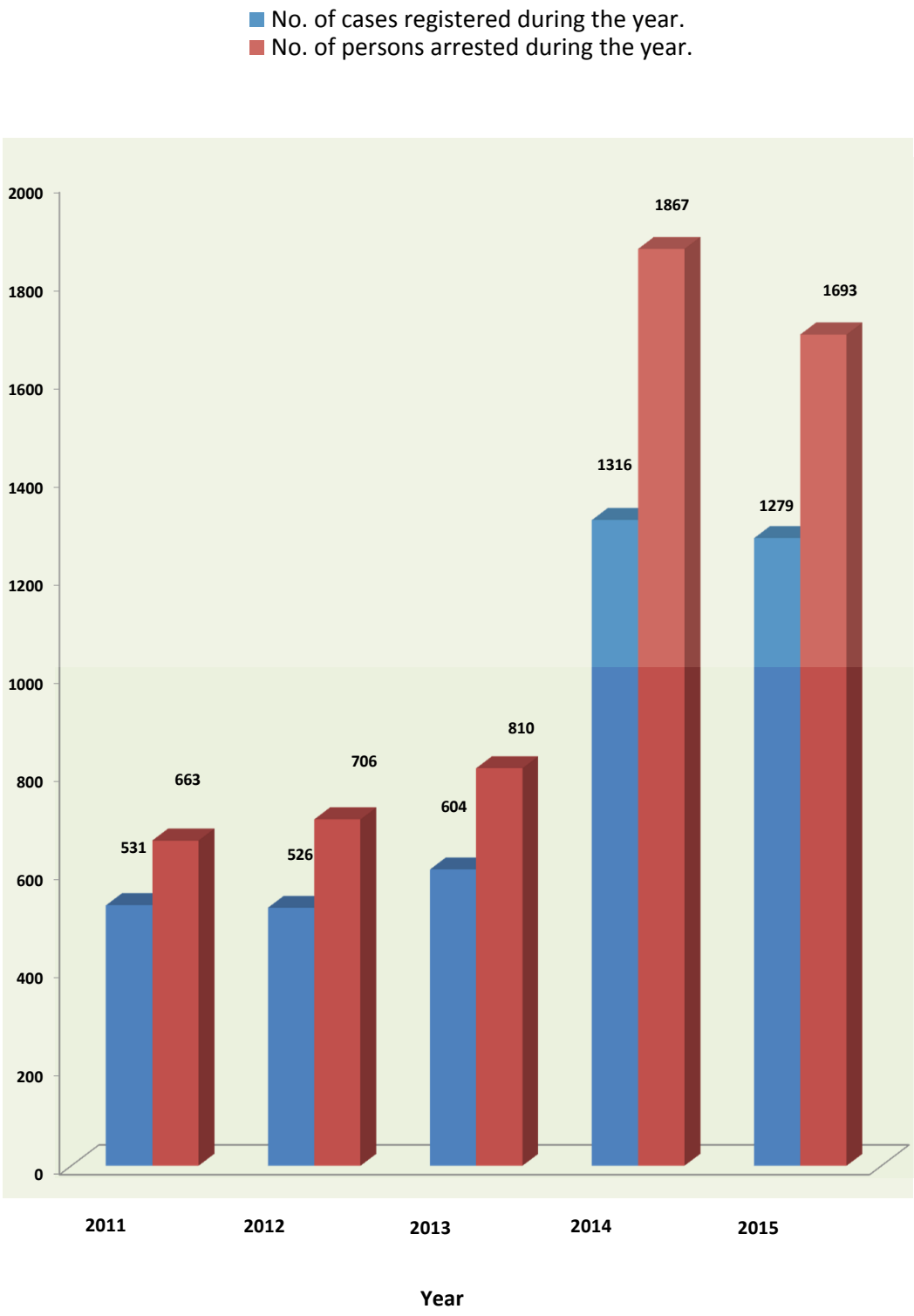

Five Years Statement Of Cognizable Crime (Cases) Registered Under The Prevention Of Corruption Act And Related Section Of I.P.C During The Prevention Of The Year 2011 To 2015.

Sr. No.	Heads	2011	2012	2013	2014	2015
1	Number of cases pending investigation from previous year.	780	826	870	848	1049
2	Number of cases registered during the year.	**531**	**526**	**604**	**1316**	**1279**
3	Total Number of cases for investigation during the year.	1311	1352	1474	2164	2328
4	Number of cases investigated during the year.	1311	1352	1474	2164	2328
5	Number of cases not investigated/or in which investigation was dropped due to any reason during the year.	--	0	0	6	1
6	Number of cases transferred to local Police during the year.	3	2	1	0	0
7	Number of cases declared false, mistake of fact or of law or non-cognizable or civil in nature.	1	2	3	0	0
8	Number of cases in which Charge Sheets were laid during the year.	460	457	603	1059	1359
9	Number of cases pending Departmental Sanction for prosecution during the year.	252	249	229	368	247
10	Number of cases sent up for trial and also reported for Departmental Action during the year.	--	0	3	0	0
11	Number of cases reported for Regular Departmental Action during the year.	24	24	6	1	0
12	Number of cases reported for Suitable Action during the year.	--	0	0	0	0
13	Number of cases in which Charge Sheets were not laid but Final Report submitted during the year.	25	24	21	18	14
14	Number of cases pending investigation at the end of the year.	826	870	846	912	956
15	Number of cases resulted in recoveries of seizures during the year.	3	170	269	534	450
16	Value of property recovered/seized during the year (in Rs.)	--	20323543	163768106	34910468	165269031
17	Percentage of cases Charge Sheeted to total cases investigated.		34%	41%	49%	58%
18	Number of cases pending trial from the previous year	2117	2173	2134	2268	3080
19	Number of cases sent up for trial during the year.	460	457	603	1059	1359
20	Total Number of cases for trial during the year.	2577	2638	2737	3327	4439
21	Number of cases withdrawn or otherwise disposed off on account of death of the accused during the year.	14	7	15	9	20
22	Number of cases in which trials were completed during the year.	390	497	454	243	523
23	Number of cases Convicted during the year.	90	120	85	69	121
24	Number of cases Acquitted or Discharged during the year.	300	377	369	174	402
25	Number of cases pending trial at the end of the year.	2173	2134	2268	3075	3896
26	Percentage of cases Convicted to cases in which trials were completed during the year.		24%	19%	28%	23%
27	Total amount of Fine imposed during the year (in Rs.)	1,681,600	1270600	1085700	730500	1106000

Five Years Statement Of Persons Arrested In Cognizable Crime (Cases) Registered Under The Prevention Of Corruption Act& Related Section Of I.P.C. During The Year 2011 To 2015.

Sr.	Heads	2011	2012	2013	2014	2015
1	Number of persons in custody or on bail during the stage of investigation at the beginning of the year.	1016	1048	988	1088	1550
2	Number of persons arrested during the year.	663	706	810	1867	1693
3	Number of persons released or freed by Police or Magistrate before trial for want of evidence or any other reason during the year.	5	3	0	16	2
4	Number of persons in custody or on bail during the stage of investigation at the end of the year.	1048	988	1086	1411	1268
5	Number of persons in whose cases Charge Sheet were laid during the year.	626	763	712	1528	1973
6	Number of persons Under Trial at the beginning of the year.	3482	3543	3627	3532	4794
7	Total Number of persons under trial during the year.	4108	4306	4339	5060	6767
8	Number of persons whose cases were withdrawn or otherwise disposed off during the year.	48	3	7	0	43
9	Number of persons in custody or on bail during the stage of trial at the end of the year.	3543	3627	3532	4440	6028
10	Number of persons in whose cases trials were completed during the year.	517	676	800	620	696
11	Number of persons Convicted during the year.	103	146	120	85	139
12	Number of persons Acquitted during the year.	414	530	680	535	557
13	Percentage of persons convicted to total persons in whose cases trials were completed during the year.		22%	15%	14%	20%
14	Number of persons involved in the cases reported for Regular Departmental Action during the year.	25	30	10	1	1
15	Number of persons involved in the cases reported for Suitable Action during the year.	--	0	5	0	
16	Number of persons punished Departmentally during the year :	12	2	1	0	1
	(i) Number of persons Dismissed from service during the year.	--	0	0	0	0
	(ii) Number of persons Removed from service during the year.	--	0	0	0	1
	(iii) Number of persons awarded other Major Punishments during the year.	5	1	1	0	0
	(iv) Number of persons awarded Minor Punishments during the year.	7	1	0	0	0
17	Number of Gazetted Officers and Other Public Servants of equivalent status working in Govt. Departments and Public Undertakings involved during the year.	146	221	141	357	277
	(i) Number of Group 'A' Officers out of above.	67	123	65	152	126
	(ii) Number of Group 'B' Officers out of above.	79	98	76	205	151
18	Number of Non-Gazetted Officers and Other Public Servants of equivalent status working in Govt. Departments and Public Undertakings involved during the year.	506	662	579	1122	1141
19	Number of Private Persons involved during the year.	93	111	90	293	275

प्रकरण - १०

विधीसंघर्षग्रस्त बाल

प्रस्तावना

टीप - बाल न्याय (मुलांची काळजी व संरक्षण) अधिनियम - २०००, नुसार बाल गुन्हेगारी असा शब्द प्रयोग समर्पक नसल्याने या पुढे बाल गुन्हेगारी या ऐवजी विधीसंघर्षग्रस्त बाल असा शब्द वापरला जाईल. या शीर्षाखालील गुन्हयांची आकडेवारी राष्ट्रीय गुन्हे अभिलेख केंद्र, नवी दिल्ली यांचेकडून अजूनही मागविली जात असल्याने या वर्षी ही आकडेवारी गुन्हयांच्या सर्व साधारण आकडेवारी मध्ये समाविष्ट केली आहे.

१०.१.१ विधीसंघर्षग्रस्त बाल यांच्या समस्या हाताळतांना कायदेशीर बाबी बरोबरच समुपदेशन व पुनर्वसन या बाबी अत्यंत महत्वाच्या आहेत. साध्या गुन्हयांपासून ते गंभीर गुन्हयांपर्यत विधीसंघर्षग्रस्त बाल यांचा सहभाग दिसून येतो. बाल न्याय अधिनियम १९८६ अन्वये विधीसंघर्षगस्त बाल याचा अर्थ १६ वर्षाखालील मुलगा व १८ वर्षाखालील मुलगी असा होतो. परंतु सन २००१ मध्ये या व्याख्येत बदल करुन विधीसंघर्षग्रस्त बाल याचा अर्थ १८ वर्षाखालील मुलगा / मुलगी असा करण्यात आला आहे.

१०.१.२ अल्पवयीन मुलांकडून घडलेल्या किंवा त्यांनी केलेल्या गुन्हयांचे विवेचन या प्रकरणात करण्यात आलेले आहे. गुन्हयात बळी पडलेल्या अल्पवयीन मुलांबाबत स्वतंत्र आढावा 'बालकावरील अत्याचाराचे गुन्हे ' या प्रकरणात घेण्यात आला आहे.

विधी संघर्षग्रस्त बाल यांच्या अपराधाचे प्रमाण

१०.२.१ सन १९९२ सालापासून राज्याच्या लोकसंख्येत वाढ झालेली आहे ही जरी वस्तुस्थिती असली तरी राज्यात भारतीय दंड विधान संहिते खाली दाखल झालेल्या गुन्हयांपैकी विधीसंघर्षग्रस्त बाल यांनी केलेल्या गुन्हयाचा हिस्सा अल्प आहे. सन २००५ मध्ये २.२५% प्रमाण होते, तर २०१५ मध्ये २.०% स्थिर आहे. (तक्ता क्र.४७)

CHAPTER - 10

Juvenile In Conflict With Law

Preface

Note - As per Juvenile Justice (Care and protection of children) Act, 2000, the term 'Juvenile delinquent' is not appropriate, therefore henceforth the term 'Juvenile in Conflict with law' will be used. The crime figures under this head are still being sought by the NCRB and hence these figures have been included in general crime figures.

10.1.1 Juvenile in conflict with law (J.C.L.) problem as such involves a legal approach as well as counseling and rehabilitation. Juvenile in conflict with laws are found responsible for committing petty as well as serious offences. The Juvenile Justice Act 1986 defines a Juvenile in conflict with law as male below 16 years of age and female below 18 years of age. Since 2001, the definition of Juvenile in conflict with law has been amended. According to the new definition both the male and female under the age of 18 years have been brought under the preview of juvenile in conflict with law.

10.1.2 This chapter describes offences committed by Juvenile. A separate chapter on 'Crime against Children' deals with Juveniles as victims of crimes.

Proportion of the crimes related to Juvenile in conflict with law

10.2.1 In spite of the increase in population since 1992 ,the proportion of crimes commited by the Juvenile in conflict with law is insignificant as compared to the offences registered under Indian Penal Code (IPC). The proporation of said offences was 2.25 % during 2005, which is now 2.0% during 2015. (Table No. 47)

तक्ता क्र. १०.१

सन २००५ ते २०१५ मधील भा.दं.वि खालील विधीसंघर्षग्रस्त बालकांचे दाखल झालेले गुन्हे

Table No. 10.1

Incidences Of Juvenile In Conflict With Law Crimes Under Ipc During 2005 To 2015

Year	2005	2006	2007	2008	2009	2010	2011	2012	2013	2014	2015
Incident	4216	4249	4499	4597	4622	4315	4775	4570	5708	5175	5482

भा.दं.वि. खालील गुन्हे (अपराध)

१०.३.१ सन २०१५ सालात विधीसंघर्षग्रस्त बाल यांचे विरूध्द भा.दं.वि. खाली एकूण ५४८२ गुन्हे दाखल झाले असून सन २०१४ (५१७५) शी तुलना करता ३०७ गुन्ह्यांची, म्हणजे (५.९३%) ने वाढ झालेली आहे. ही वाढ प्रामुख्याने खालील गुन्हयांच्या प्रकारामध्ये आहे. खूनाचा प्रयत्न (३७.२२%), जबरी चोरी (१४.६८%), दरोडा (१.६७ %), चोरी (५.१८%), खून (५.७९ %), दंगा (६.८२ %), पळवून नेणे व अपहरण (१०४.१७ %), फसवणूक (१६.६७ %) व विनयभंग (५.७९%) . सन २०१५ मध्ये विधीसंघर्षग्रस्त बाल यांनी भा.दं.वि. खाली केलेल्या गुन्हयांची आकडेवारी तक्ता क्र.४८ मध्ये दर्शविण्यात आलेली आहे. तसेच भा.दं.वि. च्या विविध गुन्हे शीर्षाचा शेकडा वाटा खालील आलेखामध्ये दर्शविला आहे.

I. P. C. Offences

10.3.1 A total number of 5482 IPC cases have been registered against Juveniles in conflict with law during 2015 showing a considerable increase by 307 cases, i.e. (5.93%) as compared to 2014 (5175) The crime heads showing significant increase are : Attempt To Murder (37.22 %), Robbery (14.68 %), Dacoity (1.67 %), Theft (5.18%), Murder (5.79%), Riots (6.82%), Kidnapping & Abduction (104.17%), Cheating (16.67 %) & Molestation (5.79 %). A detailed account of Juvenile in conflict with law under IPC during 2015 is presented in Table No.48 and head-wise percentage distribution under IPC crime is shown in following pie chart.

आलेख क्र. १०.१

सन २०१५ मधील भा.दं.वि. कायद्याखालील विधीसंघर्षग्रस्त बाल यांनी केलेल्या शीर्ष-निहाय गुन्हयांची शेकडा विभागणी

Chart No. 10.1

Crime Head-Wise (IPC) Percentage Distribution Of Juvenile In Conflict With Law During 2015

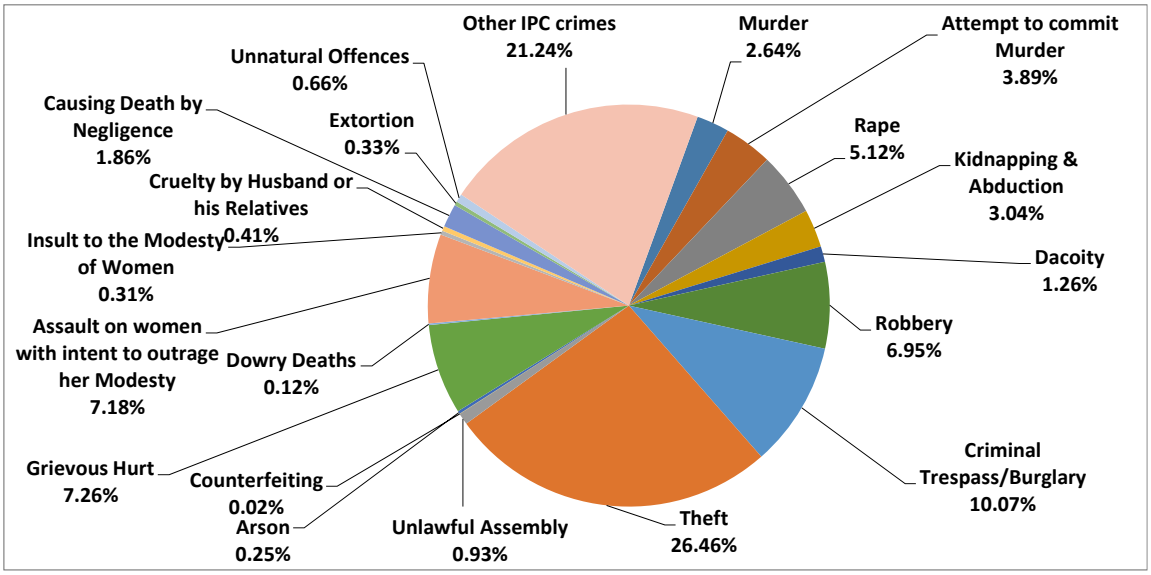

विशेष व स्थानिक कायद्यांखालील गुन्हे

१०.४.१ सन २०१५ मध्ये या कायद्यांखालील दाखल झालेल्या गुन्हयांची सन २०१४ मध्ये दाखल झालेल्या गुन्हयांशी तुलना करता भा.दं.वि.खालील गुन्हयांप्रमाणेच विधीसंघर्षग्रस्त बाल यांचे विरूध्द सन २०१५ मध्ये विशेष व स्थानिक कायद्याखालील गुन्हयांत ९.०५% ने घट झाल्याचे दिसते. सन २०१५ मध्ये, भारतीय रेल्वे कायदा, भारतीय पारपत्र कायदा, जुगारसंबंधी कायदा, आणि विशेष व स्थानिक कायद्याखाली येणारे (इतर) गुन्हे, यामध्ये घट झाल्याचे दिसून येते. तर हत्यार अधिनियम व एन. डी. पी. एस. कायदयाखालील गुन्हयांमध्ये वाढ झाल्याचे दिसून येते. या बाबत सविस्तर माहिती तक्ता क्र.४९ मध्ये तसेच विशेष व स्थानिक कायदयाच्या विविध गुन्हे शीर्ष-निहाय शेकडा विभागणी आलेख क्र. १०. २ मध्ये दर्शविण्यात आली आहे.

SLL Offences

10.4.1 As compared to 2015 there was overall decrease by 9.05% in the number of S.L.L. cases registered against Juvenile in conflict with law, during 2015. There is a decrease in cases of Indian Railways Act, Indian Passport Act, Gambling Act. and Other SLL Crimes. Total Cognizable Crimes Under SLL, declined, whereas under Arms Act and NDPS Act. increase is seen. Detailed information can be seen in Table No.49 crime head-wise percentage distribution of S.L.L. crimes is shown in following Pie Chart No.10.2.

आलेख क्र. १०.२

सन २०१५ मधील विशेष व स्थानिक कायद्याखालील विधीसंघर्षग्रस्त बाल यांची शीर्ष-निहाय गुन्हयांची शेकडा विभागणी

Chart No. 10.2

Crime Headwise Percentage Distribution Of Juvenile In Conflict With Law Crimes (SLL) During 2015

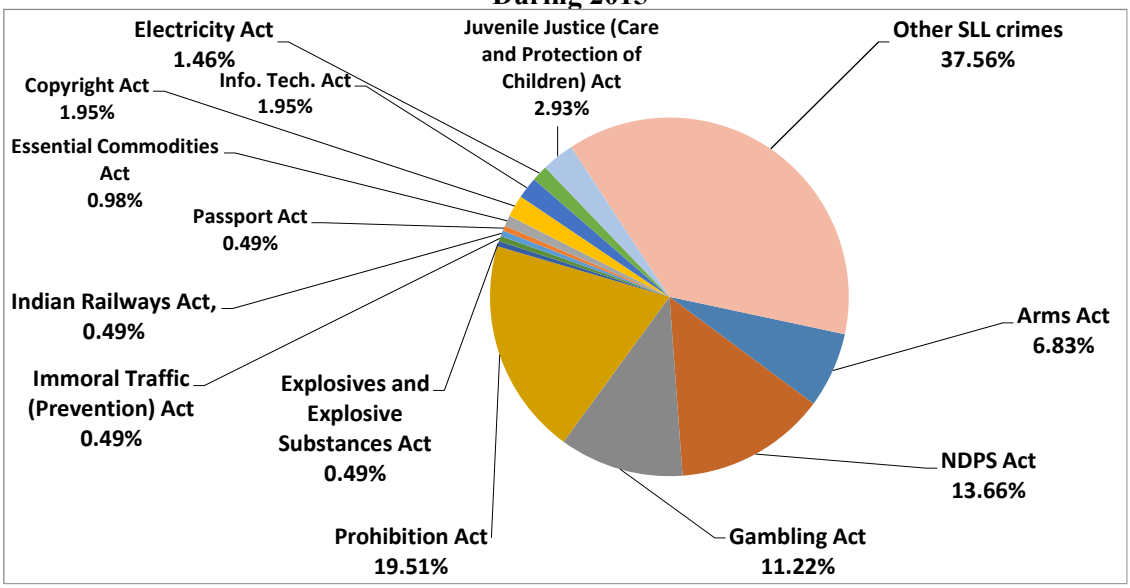

विधीसंघर्षग्रस्त बाल यांचे (भा.दं.वि.) घटकनिहाय वर्गीकरण

१०.५.१ विधीसंघर्षग्रस्त बाल यांचे संदर्भात भा.दं.वि. च्या विविध गुन्हे शीर्षानुसार सन २०१५ मध्ये घटक-निहाय दाखल गुन्हयांची माहिती तक्ता क्र. ५० मध्ये दर्शविली आहे.

सन २०१५ मध्ये राज्यात भा.दं.वि. प्रमाणे एकूण ५४८२ गुन्हे विधीसंघर्षग्रस्त बाल यांचे विरूध्द दाखल झाले. मुंबई शहर (८७३), पुणे शहर (६४०), ठाणे शहर (३६३), नागपूर शहर (२६६), सातारा (१९२), अकोला (१२६), नवी मुंबई (१४९), नाशिक शहर (१११), मुंबई रेल्वे (१७२), नांदेड (१२५), अमरावती ग्रामिण (२०९), पालघर (१०५), बुलढाणा (८७) व चंद्रपूर (७५) या जिल्हांयामध्ये जास्त प्रमाणात गुन्हे दाखल असून राज्यात एकूण दाखल गुन्हयांमध्ये हे प्रमाण ६३.७१% आहे. घटक-निहाय शेकडा विभागणी आलेख १०.३ मध्ये दर्शविली आहे.

Unit-Wise Classification Of Juvenile In Conflict With Law (IPC)

10.5.1 Unit-wise information regarding Juvenile in conflict with law under different crime heads of IPC during 2015 is given in Table No.50.

During 2015, 5482 offences under IPC have been registered against Juvenile in conflict with law. The police Units namely Mumbai (C) (873), Pune (C) (640), Thane (C) (363), Nagpur (C) (266), Satara (192), Aakola (126), Navi Mumbai (149), Nashik (C)(111), Mumbai Rly. (172), Nanded (125), Amarawati (R) (209), Palghar (105), Buldhana (87) and Chandrapur (75) have recorded large number of cases, which contributed to 63.71% of total IPC offences. Unit-wise percentage distribution of IPC crime is shown in pie chart No. 10.3

विधीसंघर्षग्रस्त बाल (वि.व स्था. कायदे) घटकनिहाय वर्गीकरण

१०.६.१ सन २०१५ मध्ये राज्यात विशेष व स्थानिक कायदयाखाली विधीसंघर्षग्रस्त बाल यांचे विरूध्द एकूण २११ गुन्हे दाखल असुन घटकनिहाय दाखल गुन्हयांची माहिती तक्ता क्र. ५१ मध्ये दर्शविली आहे. मुंबई शहर (६५), नांदेड (२०), चंद्रपूर (१५), अकोला (१४) व पुणे शहर (११) या जिल्हांयामध्ये जास्त प्रमाणात गुन्हे दाखल असून राज्यात एकूण दाखल गुन्हयांमध्ये हे प्रमाण ५९.२४% आहे.

सन २०१५ मध्ये विशेष व स्थानिक कायद्या अंतर्गत विधीसंघषर्ग्रस्त बालकांच्या विरूध्द दाखल २११ गुन्हयांपैकी दारु बंदी कायदा - ४० गुन्हे , एन. डी. पी. एस. - २८, जुगार प्रतिबंधक कायदा - २३ व शस्त्र अधिनियम कायदा १४ असे गुन्हे नोंदले गेले आहेत. घटक-निहाय शेकडा विभागणी आलेख क्र. १०.४ दर्शविली आहे.

Unit-Wise Classification Of Juvenile In Conflict With Law (SLL)

10.6.1 During 2015, 211 cases under S.L.L. have been registered against Juvenile in conflict with law in the State. The Unit-wise Information is given in Table No. 51. The police units namely Mumbai (C) (65), Nanded (20), Chandrapur (15), Akola (14), Pune (C) (11) have recorded considerable number of cases, which contributed to 59.24% of total S.L.L. offences.

During 2015, under S.L.L. 211 offences registered, out of Prohibition Act -40, NDPS Act -28 , Gambling Act -23 & Arms Act -14, have been registered against Juvenile in conflict with law. Unit-wise percentage distribution of SLL crime is shown in following Pie - Chart No. 10.4

आलेख क्र. १०.३

सन २०१५ मधील भा.दं.वि.खालील घटक-निहाय विधीसंघर्षग्रस्त बाल यांनी केलेल्या गुन्हयांची शेकडा विभागणी

Chart No. 10.3

Unit-Wise Percentage Contribution To The Juvenile In Conflict With Law Crimes Under Ipc During 2015

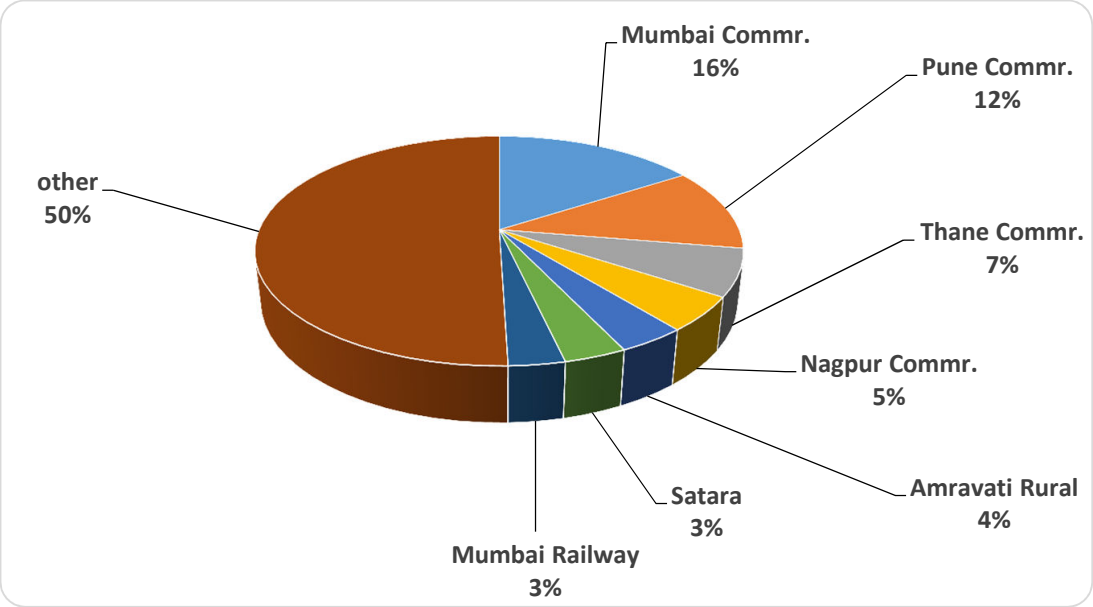

आलेख क्र. १०.४

सन २०१५ मधील विशेष व स्थानिक कायदयाखालील घटक-निहाय विधीसंघर्षग्रस्त बाल यांनी केलेल्या गुन्हयांची शेकडा विभागणी

Chart No. 10.4

Unit-Wise Percentage Contribution To Juvenile In Conflict Witth Law Crimes Under Sll During 2015

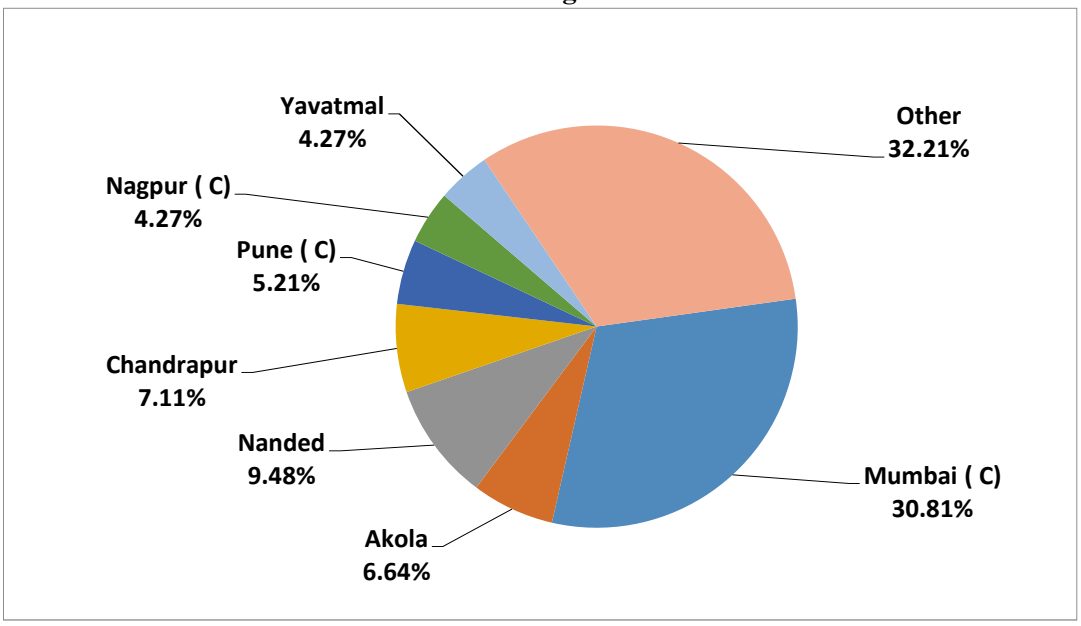

१०.६.२ राज्यात सन २०१५ मध्ये विशेष व स्थानिक कायद्याखाली एकूण २११ गुन्ह्यांपैकी १०० गुन्हे हे ९ मोठया शहरांमध्ये दाखल झालेले आहेत. तसेच भारताचा हत्यार कायदा अन्वये मुंबई शहर (३), रत्नागिरी व सातारा प्रत्येकी (२), यवतमाळ, धुळे, हिंगोली, नांदेड , नागपूर शहर, पुणे शहर आणि सांगली येथे प्रत्येकी (१) असे एकूण (१४) गुन्हे दाखल झाले आहेत.

10.6.2 In the State, out of 211 cases under the SLL Crimes 100 cases have been registered in 9 cities only during 2015. 14 Cases registered under Indian Arms Act has unit-wise distribution as follows : Mumbai (C) (3), Ratnagiri & Satara (2) each, Yavatmal, Dhule, Hingoli, Nanded, Nagpur (C) , Pune (C)and Sangli 1 each.

ताब्यात घेण्यात आलेले विधीसंघर्षग्रस्त बाल

१०.७.१ सन २०१५ मध्ये ताब्यात घेतलेल्या विधीसंघर्षग्रस्त बाल यांची लिंग व वयोगटानुसार आधारित वर्गवारी तक्ता क्रमांक ५२ व ५३ मध्ये दर्शविण्यात आली आहे. तक्ता क्रमांक ५४ मध्ये भा.दं.वि. आणि विशेष व स्थानिक कायदयाखाली ताब्यात घेतलेल्या विधीसंघर्षग्रस्त बाल यांची लिंग व वयोगटानुसार वर्गवारी दिलेली आहे. ताब्यात घेतलेल्या विधीसंघर्षग्रस्त बाल यांच्या आकडेवारीत सातत्य नसून ती दरवर्षी बदलत आहे. सन २०१४ च्या तुलनेत सन २०१५ मध्ये १.९६% वाढ आहे. ताब्यात घेतलेल्या मुलींच्या बाबतीत सन २०१४ च्या तुलनेत २०१५ मध्ये ६.९० % ने वाढ आहे तर मुलांचे बाबतीत १.८२% अशी वाढ आहे.

१०.७.२ २०१४ च्या तुलनेत २०१५ मध्ये ताब्यात घेण्यात आलेल्या विधीसंघर्षग्रस्त बाल यांच्या मध्ये १.९६% वाढ झालेली आहे. १६ ते १८ या वयोगटातील विधीसंघर्षग्रस्त बाल हे भा.दं.वि. खालील तसेच विशेष व स्थानिक कायद्याखाली अशा दोन्ही प्रकारच्या गुन्हयात जास्त गुंतलेले आढळून येतात. २०१५ मध्ये एकूण ताब्यात घेतलेल्या विधीसंघर्षग्रस्त बाल यांचे पैकी ९७.७०% विधीसंघर्षग्रस्त बाल या वयोगटातील होते. १२ ते १६ या वयोगटातील विधीसंघर्षग्रस्त बाल यांना ताब्यात घेतलेला हिस्सा २६.९० % असा आहे. १२ वर्षापेक्षा कमी या वयोगटातील विधीसंघर्षग्रस्त बाल यांचा हिस्सा १.७ % आहे. सन २०१५ ची सन २०१४ शी तुलना करता १२ वर्षापर्यंत वयोगटात (१७.४५ %) घट, तर १२ ते १६ या वयोगटात (१.५४ %) ने वाढ, १६ ते १८ या वयोगटात (२.६९%) वाढ आढळून आली आहे.

Apprehended Juvenile In Conflict With Law

10.7.1 Table No. 52 and 53 give the details of juvenile in conflict with law apprehended as per sex and age groups during 2015. Table No.54 gives break-up of Juvenile in conflict with law according to sex and age-groups both for IPC and SLL cases. The number of total Juvenile in conflict with law apprehended has been fluctuating over the years. 1.96% increase has been observed in apprehension of Juvenile in conflict with law during 2015 as compared to 2014. The figures show 6.90% increase in female Juvenile in conflict with law as against 1.82% increase in male Juvenile in conflict with law.

10.7.2 The number of Juvenile in conflict with law apprehended during 2015 has increase by (1.96%) as compared to 2014. Juvenile in conflict with law in the age group of 16-18 years were high susceptible to offences under IPC and SLL, comprising 97.70% of all juvenile in conflict with law were apprehended during 2015. Juvenile in conflict with laws in the age group of 12-16 years were 26.90% of all apprehended, whereas those in the age group of up to 12 years comprised 1.7%. Juvenile in conflict with laws apprehended in the age group of up to 12 years has decreased by (17.45%), 12-16 years has increased by (1.54%) and in case of 16-18 years has increased by (2.69%) during 2015 as compared to 2014.

१०.७.३ सन २०१५ मध्ये एकूण ७३७० विधीसंघर्षग्रस्त बाल यांचे पैकी ७१२३ विधीसंघर्षग्रस्त बाल हे भा.दं.वि. अंतर्गत गुन्हे शीर्षाखाली विविध गुन्हयांत ताब्यात घेतले आहेत. तर २४७ विधीसंघर्षग्रस्त बाल हे विशेष व स्थानिक कायद्याखाली ताब्यात घेतले आहेत. भा.दं.वि. खालील विविध गुन्हयांत ताब्यात घेण्याची टक्केवारी ९६.६५% आहे. भा.दं.वि. आणि विशेष व स्थानिक कायदया अंतर्गत गुन्हयांत प्रामुख्याने मुलांचा सहभाग मुलींपेक्षा जास्त आहे. गुन्हे शीर्ष-निहाय आकडेवारी तक्ता क्र. ५४ मध्ये दिलेली आहे.

10.7.3 Out of the 7370 Juvenile in conflict with law apprehended during 2015, 7123 have been apprehended under IPC sections and 247 have been apprehended under SLL crimes. The percentage of apprehended under IPC is 96.65%. Male Juvenile in conflict with law were primarily involved in IPC cases as well as in SLL cases more than female, Crime head-wise details are given in Table No. 54.

ताब्यात घेतलेले विधीसंघर्षग्रस्त बाल यांचे गुन्हयांचे प्रकारानुसार वर्गीकरण

१०.८.१ भा.दं.वि. खालील ताब्यात घेतलेल्या विधीसंघर्षग्रस्त बाल यांची घटक-निहाय माहिती तक्ता क्रमांक ५५ मध्ये देण्यात आलेली आहे, तर तक्ता क्र. ५६ मध्ये विशेष व स्थानिक कायद्याखालील ताब्यात घेतलेल्या विधीसंघर्षग्रस्त बाल यांची माहिती दिलेली आहे. भा.दं.वि. गुन्हयांखालील सर्वात अधिक ताब्यात घेतलेले विधीसंघर्षग्रस्त बाल मुंबई शहर (११२३), पुणे शहर (८८९), ठाणे शहर (४६६), नागपूर शहर (४६३), सातारा (२८१), नवी मुंबई (२०७), नाशिक शहर (१६०) व नाशिक ग्रामिण (२९१), अशी संख्या आहे. शीर्ष-निहाय गुन्ह्यांमध्ये चोऱ्या (६४५), गंभीर दुखापत (१२१), घरफोडी (१८१), दंगल (१७३), खून (४७), खुनाचा प्रयत्न (५२), जबरी चोरी (८७), असे विधीसंघर्षग्रस्त बाल ताब्यात घेण्यात आले. पुणे शहर शहरामध्ये खून या सदराखाली सर्वात जास्त विधीसंघर्षग्रस्त बाल ताब्यात घेतले आहेत.

Classification Of Juvenile In Conflict With Law As Per Kind Of Crime

10.8.1 Table No.55 presents the unit wise distribution of Juvenile in conflict with law apprehended under the various Crime heads of the IPC, whereas Table No.56 gives the similar information regarding the SLL cases. The largest number of Juvenile in conflict with laws apprehended for IPC crimes was in Mumbai (C) (1123), followed by Pune (C) (889), Thane (C) (466), Nagpur (C) (463), Satara (281), Navi Mumbai (C) (207), Nasik (C) (160) and Nasik (R) (291) Juvenile in conflict with law apprehended as per head-wise crimes : Theft (645), Grevious Hurt (121), Burglary (181), Riot (173), Murder (47), Attempt to Murder (52), Robbery (87), Pune (C) apprehended the largest number of Juvenile in conflict with law.

१०.८.२ विशेष व स्थानिक कायद्याप्रमाणे ताब्यात घेतलेल्या विधीसंघर्षग्रस्त बाल यांची माहिती तक्ता क्र. ५६ मध्ये देण्यात आलेली आहे. विशेष व स्थानिक अधिनियम अनुषंगाने पहाता सन २०१५ मध्ये राज्यात एकुण ताब्यात घेतलेल्या २४७ विधीसंघर्षग्रस्त बाल यांचेपैकी सर्वात जास्त मुंबई शहर (७३) म्हणजे २९.५५% विधीसंघर्षग्रस्त बाल ताब्यात घेतले आहेत. त्याचे खालोखाल नांदेड (२४), चंद्रपूर (१५), अकोला (१४), पुणे शहर (१२) व नागपूर शहर (११) या प्रमाणे विधीसंघर्षग्रस्त बाल ताब्यात घेतले आहेत.

10.8.2 The information on Juvenile in conflict with law apprehended under SLL is shown in table No. 56. As far as SLL cases are concerned, Mumbai (C) accounted for (73) (29.55%) out of the total Juvenile in conflict with law (247) apprehended in the State during 2015. The other units which contributed significantly to the count Nanded (24), Chandrapur (15), Akola(14) Pune (C) (12) and Nagpur (C) (11).

सन २०१५ मध्ये वि. व स्था. कायद्यान्वये अमरावती ग्रामीण, बीड, लातूर, वर्धा, गडचिरोली , गोंदिया, अहमदनगर, पालघर व अमरावती शहर येथे कोणताही विधीसंघर्षग्रस्त बाल ताब्यात घेतला नाही. इतर विशेष व स्थानिक गुन्ह्यांमध्ये जास्त विधीसंघर्षग्रस्त बाल ताब्यात घेणारे घटक मुंबई शहर (२८), नांदेड (१६) व पुणे शहर (१०) असे आहेत.

No juvenile in conflict with law has been apprehended in Amravati (R), Beed, Latur, Wardha, Gadchiroli, Gondia, Ahmednagar, Palghar & Amravati (C) during 2015 under S.L.L. The units which apprehended the most Juvenile in conflict with law in Other SLL cases were in Mumbai (C) (28), Nanded (16) and Pune (C) (10).

ताब्यात घेतलेल्या विधीसंघर्षग्रस्त बाल यांचे स्वरुप

१०.९.१ भा.दं.वि. आणि विशेष व स्थानिक कायदयाप्रमाणे ताब्याता घेतलेल्या विधीसंघर्षग्रस्त बाल यांचे वय व लिंग यावर आधारित वर्गीकरण तक्ता क्रमांक ५७ व ५८ मध्ये दर्शविले आहे.

Profile of apprehended Juvenile in conflict with law.

10.9.1 Table No.57 and 58 presents details of Juvenile in conflict with law apprehended in units separately under IPC and SLL according to age group and gender.

१०.९.२ भा.दं.वि. खालील अपराधाबाबत ताब्यात घेतलेल्या विधीसंघर्षग्रस्त बाल यांचे मुलांशी मुलींचे गुणोत्तर प्रमाण पाहता ते ३३.१:१ असे आहे, तर विशेष व स्थानिक कायद्याखाली हेच प्रमाण ५५.२:१ आहे. सन २०१५ मध्ये भा.दं.वि. खालील गुन्हयात नागपूर शहर (२१), मुंबई शहर (१५), ठाणे शहर (१४), नाशिक शहर (९), मुबई रेल्वे (९), औरंगाबाद शहर (८), सातारा (६), पुणे शहर (५), पालघर (३), यवतमाळ (२) व नवी मुंबई (२) असे विधीसंघर्षग्रस्त बाल ७ ते १२ वर्ष वयोगटातील आहेत. या वयोगटात ताब्यात घेतलेल्या विधीसंघर्षग्रस्त बाल यांचेपैकी ८८.४९ % विधीसंघर्षग्रस्त बाल या घटकातील आहे.

10.9.2 The Ratio of boys to girls Juvenile in conflict with law apprehended, for committing IPC Crimes during 2015 is 33.1:1, whereas it is 55.2:1 for SLL Crimes. Nagpur (C) (21), Mumbai (C) (15), Thane (C) (14), Nasik (C) (9), Mumbai Rly. (9), Aurangabad (C) (8), Satara (6), Pune (C) (5), Palghar (3), Yawatmal (2) amd Navi Mumbai (C) (2)contributed substantially towards the number of Juvenile in conflict with law, who have been apprehended for IPC crimes in the age group of 7-12 years during 2015, which contributing 88.49% of all apprehended in this age group.

१२ ते १६ वर्ष वयोगटातील ताब्यात घेतलेले विधीसंघर्षग्रस्त बाल मुंबई शहर (३५६), पुणे शहर (१९६), ठाणे शहर (१८४), नागपूर शहर (१६२), सातारा (११०), नवी मुंबई (५७), औरंगाबाद शहर (४७), नाशिक शहर (४४), बुलढाणा (३७), औरंगाबाद ग्रामीण (२९), उस्मानाबाद (२७), पुणे ग्रामीण (२५), ठाणे ग्रामीण (२४), नाशिक ग्रामीण (२३) व अकोला (२१) असे असून या घटकांचा या वयोगटातील एकूण विधीसंघर्षग्रस्त बाल यांचा ६८.८६% हिस्सा आहे.

Juvenile in conflict with law in the age group of 12-16 years have been apprehended primarily in Mumbai (C) (356), followed by Pune (C) (196), Thane (C) (184), Nagpur (C) (162), Satara (110), Navi Mumbai (C) (57), A'bad (C) (47), Nasik (C) (44), Buldhana (37), Aurngabad (R) (29), Osmanabad (27), Pune (R) (25), Thane (R) (24), Nasik (R) (23) and Akola (21) which together contributed 68.86% of total apprehended in this age group.

सन २०१५ मध्ये १६ ते १८ वयोगटातील ताब्यात घेतलेले विधीसंघर्षग्रस्त बाल मुंबई शहर (७५२), पुणे शहर (६८५), नागपूर शहर (२८०), ठाणे शहर (२६८), सातारा (१६५), कोल्हापूर (१५२), मुंबई रेल्वे (१३९) व नांदेड (११६) या घटकांचा या वयोगटातील एकूण विधीसंघर्षग्रस्त बालांमध्ये ५०.५७% हिस्सा आहे.

The largest number of Juvenile in conflict with law apprehended during 2015 in the age group of 16-18 years for IPC cases was in Mumbai (C) (752), followed by Pune (C) (685), Nagpur (C) (280), Thane (C) (268), Satara (165), Kolhapur (152), Mumbai Rly (139) and Nanded (116) contributing 50.57% of all the apprehended in this age group in the State.

१०.९.३ सन २०१५ मध्ये भादंवि खालील गुन्हयांमध्ये ताब्यात घेतलेल्या विधीसंघर्षग्रस्त बाल या मध्ये मुलींचे प्रमाण ३.०८% असून विशेष व स्थानिक कायदया खालील ते प्रमाण १.६५% आहे.

10.9.3 During 2015, 3.08% of Juvenile girls have been apprehended under IPC and 1.65% of Juvenile in conflict with law girls have been apprehended under S.L.L.

सन २०१५ मध्ये विशेष व स्थानिक कायदयाप्रमाणे ताब्यात घेण्यात आलेले सर्वाधिक विधीसंघर्षग्रस्त बाल ७ ते १२ वर्ष वयोगटात , मुंबई शहर (२), हिंगोली (२) व ठाणे शहर (१) असे आहेत. या वयोगटात ताब्यात घेतलेल्या विधीसंघर्षग्रस्त बाल यांचा १००% हिस्सा या घटकांचा आहे. १२ ते १६ वयोगटातील ताब्यात घेतलेले विधीसंघर्षग्रस्त बाल मुंबई शहर (१६), नवी मंबई (२), नाशिक शहर (२), ठाणे शहर (२) व उस्मानाबाद (२) यांचा मोठा वाटा आहे. या घटकांचा या वयोगटातील एकूण विधीसंघर्षग्रस्त बाल यात ७७.४२% हिस्सा आहे.

Mumbai (C) (2), Hingoli (2) and Thane (C) (1) contributed substantially towards the number of juvenile in conflict with law who have been apprehended in SLL crimes in these group 7-12 years during 2015, contributing 100% share of apprehended of this age group. Juvenile in conflict with laws in the age group of 12-16 years have been apprehended in Mumbai (C) (16), Navi Mumbai (C) (2), Nashik (C) (2), Thane (C) (2) and Osmanabad (2), which together contributed 77.42% share of apprehended Juvenile in conflict with laws in this age group.

सन २०१५ मध्ये १६ ते १८ वर्षे या वयोगटातील ताब्यात घेतले विधीसंघर्षग्रस्त बाल मुंबई शहर (७३), नांदेड (२४), चंद्रपूर (१५), अकोला (१४), पुणे शहर (११), व नागपूर शहर (१०) यांचा मोठा वाटा आहे. या घटकांचा या वयोगटातील एकूण विधीसंघर्षग्रस्त बालकांचा ७० % हिस्सा आहे.

The number of Juvenile in conflict with law apprehended during 2015 in the age group 16-18 for SLL cases was in Mumbai (C) (73), Nanded (24), Chandrapur (15), Akola (14), Pune (C) (11) and Nagpur (C) (10) contributing 70% of all the apprehended in this age group.

ताब्यात घेतलेल्या विधीसंघर्षग्रस्त बाल यांची निर्गती

१०.१०.१ ताब्यात घेतलेल्या विधीसंघर्षग्रस्त बाल यांच्या निर्गतीबाबत माहिती तक्ता क्र. ५९ मध्ये दिली आहे. सन २०१५ मध्ये प्रलंबित खटल्यामधील विधीसंघर्षग्रस्त बालकांची टक्केवारी २६.६३ % आहे. उस्मानाबाद, नांदेड, सातारा, चंद्रपूर, नागपूर ग्रामीण, अहमदनगर, सिंधुदुर्ग, पुणे रेल्वे, नागपूर रेल्वे, नागपूर शहर, नाशिक शहर व औरंगाबाद शहर सदर घटकांनी विधीसंघर्षग्रस्त बालक एकही ताब्यात घेतलेले नाही. मुंबई शहर, सोलापूर शहर व मुंबई रेल्वे या घटकांमध्ये सर्वात जास्त प्रकरणे प्रलंबित आहे.

Disposal of apprehended Juvenile in conflict with law.

10.10.1 The information on disposal of Juvenile in conflict with law apprehended is available in Table No.59. 26.63 % of Juvenile in conflict with law were awaiting disposal of their cases at the end of 2015. Juvenile in conflict with law is nil in Osmanabad, Nanded, Satara, Chandrapur, Nagpur (R), Ahmednagar, Sindhudurg, Pune Rly, Nagpur Rly., Nagpur (C), Nasik (C) and Aurangabad units whereas there is large pendency in Mumbai (C), Solapur (C) and Mumbai Rly.

एकूण ताब्यात घेतलेल्या विधीसंघर्षग्रस्त बालकांपैकी १३.४६ % विधीसंघर्षग्रस्त बालकांची निर्गती सल्ला देवून व कानउघाडणी द्वारे करण्यात आलेली आहे. २६.९६ % विधीसंघर्षग्रस्त बाल यांना आईवडील / पालक यांचे अभिरक्षेत, ५.८% संस्थेत, व २०.२७ % विशेष गृहात पाठविण्यात आले. १.७४% विधीसंघर्षग्रस्त बालकांना दंड करण्यात आला आणि ५.१२% निर्दोष व इतर पध्दतीने सोडण्यात आलेले आहेत.

Out of the Juvenilein conflict with law apprehended, 13.46% have been disposed off after advice or admonition. 26..96% have been placed under care of parents / guardians, 5.8% sent to Special Institutions, 20.27% sent to Special Home, 1.74% were dealt with fine and 5.12 % were either acquitted or otherwise disposed off.

विधीसंघर्षग्रस्त बाल यांचे वर्गीकरण (कारण मीमांसेप्रमाणे)

१०.११.१ सन २०१५ ची विधीसंघर्षग्रस्त बाल यांच्या अपराधी कारणाबाबतची माहिती तक्ता क्रमांक ६० मध्ये दिलेली आहे. अपेक्षेप्रमाणेच शैक्षणिक व आर्थिक दृष्टया मागासलेपण ही दोन मुख्य कारणे बालकांच्या अपराधी वर्तनात आढळली आहेत. वेगवेगळया अपराधातील एकूण ताब्यात घेतलेल्या विधीसंघर्षग्रस्त बाल यांचेपैकी अशिक्षित (४३६), ५.९१%, प्राथमिकस्तरापर्यंत शिक्षण घेतलेले (२५५९), ३४.७२% आहेत. आईवडिलांसोबत राहणारे (६२१८), पालकांसोबत राहणारे (५८३) असून त्या दोन्हींची टक्केवारी ९२.२७% आहे. कुटुंबहीन बालके (५६९) म्हणजेच ७.७२% आहेत.

खालील तक्त्यावरून २५००० रूपयांपर्यंत उत्पन्न असलेल्या कमी उत्पन्न गटात सन २०११ पासून घटता कल आढळून आला तर २५००१ ते ५०००० या उत्पन्न गटात सन २०१२ पासून वाढता कल आढळून आला.

Classification Of Juveniles In Conflict With Law (As Per Causes)

10.11.1 Table No.60 shows classification of Juveniles apprehended by attributes during 2015. As expected, low education and poor economic status are common reasons of Juveniles in conflict with law. Out of the total Juveniles involved in various crimes, (436), 5.91% were illiterate and (2559), (34.72%) were not educated beyond the primary level. Children living with parents (6218) and with guardians (583) constituted 92.27% of Juvenile in conflict with law. The share of homeless children who were involved in the crimes was just (569), i.e, 7.72% only.

The following table shows that the share of Juvenile in conflict with law belonging to low income group (upto Rs. 25000 p.a.) has decreasing trend from 2011 and belonging to income group (25001 to 50000 p.a.) has increasing trend since 2011.

तक्ता क्र. १०.२

सन २०११ ते २०१५ मध्ये भा.दं.वि व विशेष व स्थानिक कायद्याखालील ताब्यात घेतलेल्या विधीसंघर्षग्रस्त बाल यांची आर्थिक स्थितीप्रमाणे केलेली टक्केवारी प्रमाणे विभागणी

TABLE NO. 10.2

Percentage Distribution of Juvenile in conflict with law Apprehended (IPC + SLL) According to Economic Background during (2011 - 2015)

Sr. No.	Income Group	2011	2012	2013	2014	2015
1	Low (upto Rs.25000 p.a.)	57.3	57.3	53.05	42.71	42.02
2	Lower/Middle (25001 to 50000 p.a.)	26.29	22.28	24.95	25.04	26.96
3	Middle (Rs.50001 to 100000)	10.03	12.78	13.13	23.49	22.33
4	Upper Middle (Rs. 100001 to 200000)	4.67	4.07	7.48	6.41	5.34
5	Upper (Above Rs.200000)	1.71	2.05	1.4	2.35	2.36

तक्ता क्र.४७

विधी संघर्षग्रस्त बाल यांचे भा.दं.वि. खालील दाखल झालेले गुन्हे व त्यांचे प्रमाण २००५-२०१५

Table No. 47

Incidence and Rate of Juvenile In Conflict With The Law under IPC During 2005-2015

Sr. No.	Year	Incidence of		Percentage Of Juvenile Crimes To Total Crimes	Estimated Mid-Year Population *(In Lakh)	Crime Rate
		Juvnile Crimes	Total IPC Crimes			
1	2	3	4	5	6	7
1	2005	4216	187027	2.25	1073.94	3.93
2	2006	4249	191788	2.22	1103.13	3.85
3	2007	4499	195707	2.30	1133.48	3.97
4	2008	4597	206243	2.23	1163.02	3.95
5	2009	4622	199598	2.32	1195.28	3.87
6	2010	4315	208168	2.07	1228.78	3.51
7	2011	4775	204902	2.33	1123.73	4.25
8	2012	4570	202700	2.25	1143.16	4.00
9	2013	5708	234385	2.44	1162.69	4.91
10	2014	5175	249834	2.07	1176.91	4.40
11	2015	5482	275414	2.0	1191.61	4.60

तक्ता क्र. ४८

सन २०१५ मधील विधीसंघर्षग्रस्त बाल यांचे भा.दं.वि. खालील गुन्हे (२०१०-२०१५) व सन २०१५ मध्ये झालेला शेकडा प्रमाणातील बदल

Table No. 48

Juvenile In Conflict With Law (IPC) Under Different Crime Heads (2010-2015) And Various Percentage Change During 2015

SR. No.	Crime Head	2005	2010	2011	2012	2013	2014	QUINQUENNIAL AVERAGE (2010-2014)	2015	% Share of 2015
1	2		4	5	6	7	8	9	10	11
1	Murder	100	98	145	117	143	121	125	128	2.33
2	Attempt to commit Murder	80	100	135	128	140	137	128	188	3.43
3	Culpable Homicide not amounting to Murder	5	1	5	7	4	5	4	3	0.05
4	Attempt to commit Culpable Homicide	0					0	0	0	0.00
5	Rape	90	88	125	89	197	208	141	247	4.51
6	Attempt to commit Rape						0	0	1	0.02
7	Kidnapping & Abduction	3	42	50	37	100	72	60	147	2.68
8	Dacoity	6	46	48	65	66	60	57	61	1.11
9	Making Preparation and Assembly for committing Dacoity	1	18	14	29	22	35	24	18	0.33
10	Robbery	16	166	176	243	302	293	236	336	6.13
11	Criminal Trespass/Burglary	269	548	571	490	615	508	546	487	8.88
12	Theft	576	1152	1256	1095	1358	1216	1215	1279	23.33
13	Unlawful Assembly						29	6	45	0.82
14	Riots		352	442	464	534	396	438	423	7.72
15	Criminal Breach of Trust	4	4	8	0	4	4	4	4	0.07
16	Cheating	8	20	25	35	20	12	22	14	0.26
17	Forgery	0					1	0	0	0.00
18	Counterfeiting	0	3	8	10	5	2	6	1	0.02
19	Arson	18	11	12	15	17	13	14	12	0.22
20	Grievous Hurt	375	983	1020	1057	1128	387	915	351	6.40
21	Dowry Deaths	0	11	7	6	6	11	8	6	0.11
22	Assault on women with intent to outrage her Modesty	0	93	108	96	312	328	187	347	6.33
23	Insult to the Modesty of Women	0	30	28	40	76	28	40	15	0.27
24	Cruelty by Husband or his Relatives	63	65	105	69	72	42	71	20	0.36
25	Importation of Girls from Foreign Country	0	0	0	0	0	0	0	0	0.00
26	Causing Death by Negligence		38	29	59	61	62	50	90	1.64
27	Offences against State						0	0	0	0.00
28	Offences promoting enmity between different groups						0	0	0	0.00
29	Extortion						8	2	16	0.29
30	Disclosure of Identity of Victims						0	0	0	0.00
31	Incidence of Rash Driving						179	36	184	3.36
32	Human Trafficking						3	1	0	0.00
33	Unnatural Offences						8	2	32	0.58
34	Other IPC crimes	170	446	458	419	526	1007	571	1027	18.73
	Total Cognizable IPC crimes	**1784**	**4315**	**4775**	**4570**	**5708**	**5175**	**4909**	**5482**	**100.00**

तक्ता क्र. ४८ (पूर्ण)

Table No. 48 (Concluded)

SR. No.	Crime Head	Percentage Change during 2015 [(+) Increase (-) Decrease] As Compared to		
		2005	Q.A.	2014
1	2	12	13	14
1	Murder	28.00	2.56	5.79
2	Attempt to commit Murder	135.00	46.88	37.23
3	Culpable Homicide not amounting to Murder	-40.00	-31.82	-40.00
4	Attempt to commit Culpable Homicide			
5	Rape	174.44	74.68	18.75
6	Attempt to commit Rape			
7	Kidnapping & Abduction	4800.00	144.19	104.17
8	Dacoity	916.67	7.02	1.67
9	Making Preparation and Assembly for committing Dacoity	1700.00	-23.73	-48.57
10	Robbery	2000.00	42.37	14.68
11	Criminal Trespass/Burglary	81.04	-10.87	-4.13
12	Theft	122.05	5.23	5.18
13	Unlawful Assembly		675.86	55.17
14	Riots		-3.34	6.82
15	Criminal Breach of Trust	0.00	0.00	0.00
16	Cheating	75.00	-37.50	16.67
17	Forgery		-100.00	-100.00
18	Counterfeiting		-82.14	-50.00
19	Arson	-33.33	-11.76	-7.69
20	Grievous Hurt	-6.40	-61.64	-9.30
21	Dowry Deaths		-26.83	-45.45
22	Assault on women with intent to outrage her Modesty		85.17	5.79
23	Insult to the Modesty of Women		-62.87	-46.43
24	Cruelty by Husband or his Relatives	-68.25	-71.67	-52.38
25	Importation of Girls from Foreign Country			
26	Causing Death by Negligence		80.72	45.16
27	Offences against State			
28	Offences promoting enmity between different groups			
29	Extortion		900.00	100.00
30	Disclosure of Identity of Victims			
31	Incidence of Rash Driving		413.97	2.79
32	Human Trafficking		-100.00	-100.00
33	Unnatural Offences		1900.00	300.00
34	Other IPC crimes	504.12	79.80	1.99
	Total Cognizable IPC crimes	207.29	11.68	5.93

तक्ता क्र. ४९

सन २०१५ मधील विधीसंघर्षग्रस्त बाल यांचे विशेष व स्थानिक कायदया खालील शीर्ष-निहाय गुन्हे व २०१४ शी तुलना करता वाढ / घट

Table No. 49

Juvenile In Conflict With Law Under Different Crime Heads Of SLL & Percentage Variation During 2015 As Compared To 2014

Sr. No.	Crime Head	NUMBER OF CASES 2014	NUMBER OF CASES 2015	PERCENTAGE CHANGE DURING 2015 AS COMPARED TO 2014	% Share of 2015
1	2	3	4	5	6
1	Arms Act, 1959	11	14	27.27	6.64
2	Narcotic Drugs & Psychotropic Substances Act, 1985	21	28	33.33	13.27
3	Gambling Act, 1867	43	23	-46.51	10.90
4	Excise Act, 1944	0	0	0.00	0.00
5	Prohibition Act	38	40	5.26	18.96
6	Explosives and Explosive Substances Act	0	1	0.00	0.47
7	Immoral Traffic (Prevention) Act, 1956	8	1	-87.50	0.47
8	Indian Railways Act, 1989	2	1	-50.00	0.47
9	Registration of Foreigners Act, 1939	0	0	0.00	0.00
10	Protection of Civil Rights Act, 1955	0	0	0.00	0.00
10.1	PCR Act for crimes committed against SCs	0	0	0.00	0.00
10.2	PCR Act for crimes committed against STs	0	0	0.00	0.00
10.3	PCR Act for crimes committed against Others	0	0	0.00	0.00
11	Passport Act, 1967	3	1	-66.67	0.47
12	Essential Commodities Act, 1955	0	2	0.00	0.95
13	Antiquities & Art Treasures Act, 1972	0	0	0.00	0.00
14	Dowry Prohibition Act, 1961	0	0	0.00	0.00
15	Indecent Representation of Women (Prohibition) Act, 1986	0	0	0.00	0.00
16	Copyright Act, 1957	2	4	100.00	1.90
17	Protection of Child from Sexual Offences	0	1	0.00	0.47
18	SC/ST (Prevention of Atrocities) Act, 1989)	2	5	150.00	2.37
18.1	POA Act for crimes committed against SCs	1	5	400.00	2.37
18.2	POA Act for crimes committed against STs	1	0	-100.00	0.00
19	Forest Act, 1927	0	0	0.00	0.00
20	Prohibition of Child Marriage Act, 2006	1	0	-100.00	0.00
21	Protection of Women from Domestic Violence Act, 2005	0	0	0.00	0.00
22	Information Technology Act, 2000	2	4	100.00	1.90
23	Official Secrets Act, 1923	0	0	0.00	0.00
24	Electricity Act, 2003	1	3	200.00	1.42
25	Wildlife Protection Act, 1972	0	0	0.00	0.00
26	Bonded Labour System (Abolition) Act, 1976	0	0	0.00	0.00
27	Environmental (Protection) Act, 1986	3	0	-100.00	0.00
28	Air (Prevention & Control of Pollution) Act, 1981	2	0	-100.00	0.00
29	Water (Prevention & Control of Pollution) Act, 1974(as amended in 1988)	0	0	0.00	0.00
30	National Security Act, 1980	0	0	0.00	0.00
31	Unlawful Activities (Prevention) Act, 1967	0	0	0.00	0.00
32	Young Persons (Harmful Publications) Act, 1956	0	0	0.00	0.00
33	Railway Property (Unlawful Possession) Act, 1966	0	0	0.00	0.00
34	Prevention of Damage to Public Property Act, 1984	0	0	0.00	0.00
35	Transplantation of Human Organs Act, 1994	0	0	0.00	0.00
36	Trade Marks Act, 1999	0	0	0.00	0.00
37	Prevention of Insults to National Honour Act, 1971	0	0	0.00	0.00
38	State Emblem (Prohibition of Improper Use) Act, 2005	0	0	0.00	0.00
39	Lotteries (Regulation) Act, 1998	0	0	0.00	0.00
40	Citizenship Act, 1955	0	0	0.00	0.00
41	Foreigners Act, 1946	0	0	0.00	0.00
42	Place of Worship (Special Provisions) Act, 1991	0	0	0.00	0.00
43	Religious Institution (Prevention of Misuse) Act, 1988	0	0	-	0.00
44	Representation of People Act, 1951	1	0	-100.00	0.00
45	Emigration Act, 1983	0	0	0.00	0.00
46	Juvenile Justice (Care and Protection of Children) Act, 2000	4	6	50.00	2.84
47	Infant Substitutes Regulation Act, 2003	0	0	0.00	0.00
48	Anti-Hijacking Act, 1982	0	0	0.00	0.00
49	Atomic Energy Act, 1962	0	0	0.00	0.00
50	Weapons of Mass Destruction (Proh. of Unlawful Activities) Act, 2005	0	0	0.00	0.00
51	Suppression of Unlawful Acts against Safety of Civil Aviation Act, 1982	0	0	0.00	0.00
52	Safety of Maritime Navigation Act, 2002	0	0	0.00	0.00
53	Manual Scavengers and Construction of Dry Latrines (P) Act, 1993	0	0	0.00	0.00
54	Pre-Natal Diagnostic Techniques (Reg and Prev of Misuse) Act, 1994	0	0	0.00	0.00
55	The Maritime Zones of India (Reg of Fishing by Foreign Vessels) Act, 1981	0	0	0.00	0.00
56	Other SLL crimes	88	77	-12.50	36.49
	Total Cognizable SLL crimes	**232**	**211**	**-9.05**	**100.00**

तक्ता क्र. ५०

सन २०१५ मधील विधीसंघर्षग्रस्त बालांचे भा.दं.वि. खालील शीर्ष-निहाय गुन्हे (घटक-निहाय)

Table No.50

Juvenile In Conflict With Law Under Defferent Crime Heads (IPC) During 2015(Unit- Wise)

Sr. No.	Unit	Murder (Section 302 IPC)	Attempt To Commit Murder (Section 307 IPC)	Culpable Homicide Not Amounting To Murder (Section 304 IPC)	Attempt To Commit Culpable Homicide (Section 308 IPC)	Rape (Section 376 IPC) (Total)			
						Rape (Section 376 IPC)(Total)	Custodial Rape		
							Custodial Rape*	Gang Rape	Other Rape
1	2	3	4	5	6	7	8	9	10
1	Akola	3	2	0	0	6	0	0	0
2	Amravati Rural	0	0	0	0	11	0	0	0
3	Buldhana	1	1	0	0	1	0	0	0
4	Yavatmal	2	1	0	0	2	0	0	0
5	Washim	0	6	0	0	2	0	0	0
*	**Amaravati Range**	**6**	**10**	**0**	**0**	**22**	**0**	**0**	**0**
6	Aurangabad Rural	3	4	0	0	0	0	0	0
7	Jalna	3	2	0	0	2	0	0	0
8	Beed	7	4	0	0	4	0	0	0
9	Osmanabad	1	5	0	0	8	0	0	0
*	**A'bad Range**	**14**	**15**	**0**	**0**	**14**	**0**	**0**	**0**
10	Nanded	3	5	0	0	4	0	0	0
11	Latur	2	0	0	0	3	0	0	0
12	Parbhani	2	5	0	0	3	0	0	0
13	Hingoli	1	4	0	0	2	0	0	0
*	**Nanded Range**	**8**	**14**	**0**	**0**	**12**	**0**	**0**	**0**
14	Kolhapur	6	4	0	0	9	0	0	0
15	Pune Rural	6	6	0	0	5	0	0	0
16	Sangli	4	7	0	0	9	0	0	0
17	Satara	3	13	0	0	10	0	0	0
18	Solapur Rural	0	2	0	0	7	0	0	0
*	**Kolhapur Range**	**19**	**32**	**0**	**0**	**40**	**0**	**0**	**0**
19	Bhandara	2	1	0	0	2	0	0	0
20	Chandrapur	0	0	0	0	6	0	0	0
21	Nagpur Rural	1	2	0	0	5	0	0	0
22	Wardha	1	1	0	0	4	0	0	0
*	**Nagpur Range**	**4**	**4**	**0**	**0**	**17**	**0**	**0**	**0**
23	Gadchiroli	1	0	1	0	1	0	0	0
24	Gondia	1	6	0	0	8	0	0	0
*	**Gadchiroli Range**	**2**	**6**	**1**	**0**	**9**	**0**	**0**	**0**
25	Ahmednagar	5	1	0	0	0	0	0	0
26	Dhule	1	0	1	0	0	0	0	0
27	Jalgaon	3	6	0	0	4	0	0	0
28	Nasik Rural	3	3	0	0	8	0	0	0
29	Nandurbar	1	1	0	0	4	0	0	0
*	**Nasik Range**	**13**	**11**	**1**	**0**	**16**	**0**	**0**	**0**
30	Raigad	3	0	0	0	7	0	0	0
31	Ratnagiri	1	1	0	0	4	0	0	0
32	Sindhudurg	0	0	0	0	1	0	0	0
33	Thane Rural	3	2	1	0	3	0	0	0
34	Palghar	5	1	0	0	10	0	0	0
*	**Thane Range**	**12**	**4**	**1**	**0**	**25**	**0**	**0**	**0**
35	Mumbai Railway	1	0	0	0	0	0	0	0
36	Pune Railway	1	0	0	0	0	0	0	0
37	Nagpur Railway	0	1	0	0	0	0	0	0
*	**Railways Range**	**2**	**1**	**0**	**0**	**0**	**0**	**0**	**0**
38	Nagpur Commr.	8	9	0	0	11	0	0	0
39	Pune Commr.	16	41	0	0	20	0	0	0
40	Thane Commr.	7	16	0	0	11	0	0	0
41	Mumbai Commr.	12	14	0	0	34	0	0	0
42	Nasik Commr.	1	2	0	0	1	0	0	0
43	Aurangabad Commr.	2	5	0	0	2	0	0	0
44	Solapur Commr.	1	0	0	0	3	0	0	0
45	Navi Mumbai	1	4	0	0	8	0	0	0
46	Amravati Commr.	0	0	0	0	2	0	0	0
*	**Total of Commrs.**	**48**	**91**	**0**	**0**	**92**	**0**	**0**	**0**
**	**Total**	**128**	**188**	**3**	**0**	**247**	**0**	**0**	**0**

तक्ता क्र. ५० (चालू)

Table No. 50 (Continued)

S.No.	Unit	Rape			Attempt To Commit Rape (Section 376/511 IPC)	Kidnapping & Abduction (Section 363, 364, 364A, 366 IPC)					
		Other than Custodial Rape									
		Rape Other Than Custodial (Total)	Gang Rape	Other Rape		Kidnapping & Abduction (Total)	K & A (Section 363 IPC)	K & A in order to Muder (Section 364 IPC)	K & A For Ransom, Etc (Section 364A IPC)	K & A Of Women To Compel Her For Marriage, Etc (Section 366 IPC)	Others
1	**2**	**11**	**12**	**13**	**14**	**15**	**16**	**17**	**18**	**19**	**20**
1	Akola	6	0	6	0	1	1	0	0	0	0
2	Amravati Rural	11	3	8	0	2	0	0	0	2	0
3	Buldhana	1	0	1	0	0	0	0	0	0	0
4	Yavatmal	2	0	2	0	5	4	0	0	1	0
5	Washim	2	1	1	0	0	0	0	0	0	0
*	**Amaravati Range**	**22**	**4**	**18**	**0**	**8**	**5**	**0**	**0**	**3**	**0**
6	Aurangabad Rural	0	0	0	0	0	0	0	0	0	0
7	Jalna	2	0	2	0	0	0	0	0	0	0
8	Beed	4	0	4	0	1	0	0	0	1	0
9	Osmanabad	8	0	8	0	4	0	0	0	4	0
*	**A'bad Range**	**14**	**0**	**14**	**0**	**5**	**0**	**0**	**0**	**5**	**0**
10	Nanded	4	0	4	0	2	0	0	0	2	0
11	Latur	3	0	3	0	4	0	0	0	4	0
12	Parbhani	3	0	3	0	1	0	0	0	1	0
13	Hingoli	2	0	2	0	2	0	0	0	2	0
*	**Nanded Range**	**12**	**0**	**12**	**0**	**9**	**0**	**0**	**0**	**9**	**0**
14	Kolhapur	9	0	9	0	4	0	0	1	1	2
15	Pune Rural	5	0	5	0	2	2	0	0	0	0
16	Sangli	9	0	9	0	3	0	0	0	2	1
17	Satara	10	1	9	0	6	4	0	0	2	0
18	Solapur Rural	7	0	7	0	3	0	0	0	3	0
*	**Kolhapur Range**	**40**	**1**	**39**	**0**	**18**	**6**	**0**	**1**	**8**	**3**
19	Bhandara	2	0	2	0	1	1	0	0	0	0
20	Chandrapur	6	0	6	0	1	0	0	0	1	0
21	Nagpur Rural	5	0	5	0	0	0	0	0	0	0
22	Wardha	4	0	4	0	1	0	0	0	1	0
*	**Nagpur Range**	**17**	**0**	**17**	**0**	**3**	**1**	**0**	**0**	**2**	**0**
23	Gadchiroli	1	0	1	0	0	0	0	0	0	0
24	Gondia	8	0	8	0	2	0	0	0	0	2
*	**Gadchiroli Range**	**9**	**0**	**9**	**0**	**2**	**0**	**0**	**0**	**0**	**2**
25	Ahmednagar	0	0	0	0	4	0	0	0	4	0
26	Dhule	0	0	0	0	0	0	0	0	0	0
27	Jalgaon	4	0	4	0	5	0	0	0	5	0
28	Nasik Rural	8	2	6	0	0	0	0	0	12	0
29	Nandurbar	4	0	4	0	14	2	0	0	0	0
*	**Nasik Range**	**16**	**2**	**14**	**0**	**23**	**2**	**0**	**0**	**21**	**0**
30	Raigad	7	0	7	1	1	1	0	0	0	0
31	Ratnagiri	4	0	4	0	4	4	0	0	0	0
32	Sindhudurg	1	0	1	0	0	0	0	0	0	0
33	Thane Rural	3	1	2	0	4	4	0	0	0	0
34	Palghar	10	1	9	0	2	2	0	0	0	0
*	**Thane Range**	**25**	**2**	**23**	**1**	**11**	**11**	**0**	**0**	**0**	**0**
35	Mumbai Railway	0	0	0	0	1	1	0	0	0	0
36	Pune Railway	0	0	0	0	1	0	0	0	0	0
37	Nagpur Railway	0	0	0	0	0	0	0	0	0	1
*	**Railways Range**	**0**	**0**	**0**	**0**	**2**	**1**	**0**	**0**	**0**	**1**
38	Nagpur Commr.	11	0	11	0	7	2	0	0	0	5
39	Pune Commr.	20	0	20	0	12	8	0	1	1	2
40	Thane Commr.	11	0	11	0	9	8	0	0	0	1
41	Mumbai Commr.	34	1	33	0	28	27	0	0	0	1
42	Nasik Commr.	1	0	1	0	3	2	0	0	0	1
43	Aurangabad Commr.	2	0	2	0	2	2	0	0	0	0
44	Solapur Commr.	3	0	3	0	0	0	0	0	0	0
45	Navi Mumbai	8	0	8	0	4	4	0	0	0	0
46	Amravati Commr.	2	0	2	0	1	0	0	0	1	0
*	**Total of Commrs.**	**92**	**1**	**91**	**0**	**66**	**53**	**0**	**1**	**2**	**10**
**	**Total**	**247**	**10**	**237**	**1**	**147**	**79**	**0**	**2**	**50**	**16**

तक्ता क्र. ५० (चालू)

Table No. 50 (Continued)

Sr. No.	Unit	Dacoity (Section 395,396 & 398 IPC)			Making Preparation And Assembly For Committing Dacoity (Section 399 & 402 IPC)	Robbery (Section 392 To 394, 397 And 398 IPC)	Criminal Trespass/Burglary (Section 457 To 460 IPC)			Theft (Section 379 To 380 IPC)			UnlawfulAssembly(section 143,144 & 145)
		Dacoity (Total)	Dacoity With Murder (Section 396 IPC)	Others			Criminal Trespass/Burglary (Section 457 To 460 IPC) (Total)	Criminal Trespass/Burglary (Section 457 & 458 IPC)	House Trespass & House Breaking (Section 459 & 460 IPC)	Total Theft	Auto Theft	Other Thefts	
1	2	21	22	23	24	25	26	27	28	29	30	31	32
1	Akola	1	0	1	0	2	5	5	0	36	4	32	2
2	Amravati Rural	0	0	0	0	0	3	3	0	23	5	18	0
3	Buldhana	1	0	1	0	2	7	3	4	17	0	17	0
4	Yavatmal	0	0	0	1	3	5	3	2	15	1	14	0
5	Washim	0	0	0	0	0	2	1	1	2	1	1	0
*	**Amaravati Range**	**2**	**0**	**2**	**1**	**7**	**22**	**15**	**7**	**93**	**11**	**82**	**2**
6	Aurangabad Rural	1	0	1	0	2	9	1	8	8	1	7	0
7	Jalna	0	0	0	1	8	18	11	7	15	5	10	5
8	Beed	6	0	6	0	4	7	5	2	11	0	11	0
9	Osmanabad	5	0	5	0	0	9	3	6	13	2	11	0
*	**A'bad Range**	**12**	**0**	**12**	**1**	**14**	**43**	**20**	**23**	**47**	**8**	**39**	**5**
10	Nanded	4	0	4	0	5	2	2	0	17	10	7	0
11	Latur	0	0	0	0	3	2	2	0	10	0	10	0
12	Parbhani	0	0	0	0	2	9	7	2	11	3	8	0
13	Hingoli	0	0	0	0	0	1	0	1	0	0	0	1
*	**Nanded Range**	**4**	**0**	**4**	**0**	**10**	**14**	**11**	**3**	**38**	**13**	**25**	**1**
14	Kolhapur	0	0	0	3	7	12	9	3	26	13	13	3
15	Pune Rural	2	0	2	0	4	3	2	1	7	3	4	2
16	Sangli	4	0	4	0	7	6	5	1	27	6	21	1
17	Satara	6	0	6	4	12	9	9	0	32	4	28	0
18	Solapur Rural	0	0	0	1	0	3	3	0	14	0	14	0
*	**Kolhapur Range**	**12**	**0**	**12**	**8**	**30**	**33**	**28**	**5**	**106**	**26**	**80**	**6**
19	Bhandara	0	0	0	0	0	10	9	1	18	2	16	1
20	Chandrapur	0	0	0	0	0	6	6	0	24	0	24	1
21	Nagpur Rural	0	0	0	0	0	2	2	0	10	0	10	0
22	Wardha	0	0	0	0	0	5	4	1	22	0	22	0
*	**Nagpur Range**	**0**	**0**	**0**	**0**	**0**	**23**	**21**	**2**	**74**	**2**	**72**	**2**
23	Gadchiroli	0	0	0	0	0	1	1	0	1	0	1	0
24	Gondia	0	0	0	0	1	9	9	0	14	2	12	2
*	**Gadchiroli Range**	**0**	**0**	**0**	**0**	**1**	**10**	**10**	**0**	**15**	**2**	**13**	**2**
25	Ahmednagar	1	0	1	4	5	0	0	0	8	0	8	0
26	Dhule	0	0	0	0	3	0	0	0	2	0	2	0
27	Jalgaon	2	0	2	0	4	9	9	0	12	3	9	2
28	Nasik Rural	0	0	0	0	2	6	6	0	9	2	7	2
29	Nandurbar	0	0	0	0	1	3	2	1	5	1	4	0
*	**Nasik Range**	**3**	**0**	**3**	**4**	**15**	**18**	**17**	**1**	**36**	**6**	**30**	**4**
30	Raigad	2	0	2	0	2	6	5	4	12	5	7	0
31	Ratnagiri	0	0	0	0	0	2	1	1	8	2	6	0
32	Sindhudurg	0	0	0	0	0	2	1	1	2	0	2	0
33	Thane Rural	0	0	0	0	4	11	7	4	5	2	3	0
34	Palghar	0	0	0	0	5	22	18	1	37	21	16	0
*	**Thane Range**	**2**	**0**	**2**	**0**	**11**	**43**	**32**	**11**	**64**	**30**	**34**	**0**
35	Mumbai Railway	1	0	1	0	40	0	0	0	113	0	113	0
36	Pune Railway	0	0	0	0	5	0	0	0	7	0	7	0
37	Nagpur Railway	1	0	1	0	2	0	0	0	19	0	19	0
*	**Railways Range**	**2**	**0**	**2**	**0**	**47**	**0**	**0**	**0**	**139**	**0**	**139**	**0**
38	Nagpur Commr.	3	0	3	0	29	30	18	12	74	38	36	1
39	Pune Commr.	11	0	11	0	52	46	35	11	174	105	69	7
40	Thane Commr.	6	0	6	1	51	32	20	12	73	38	35	0
41	Mumbai Commr.	3	0	3	1	32	104	95	9	196	64	132	11
42	Nasik Commr.	0	0	0	0	11	18	16	2	28	11	17	0
43	Aurangabad Commr.	1	0	1	2	7	20	15	5	51	25	26	2
44	Solapur Commr.	0	0	0	0	1	7	7	0	10	0	10	0
45	Navi Mumbai	0	0	0	0	17	23	15	8	44	21	23	0
46	Amravati Commr.	0	0	0	0	1	1	1	0	17	0	17	2
*	**Total of Commrs.**	**24**	**0**	**24**	**4**	**201**	**281**	**222**	**59**	**667**	**302**	**365**	**23**
**	**Total**	**61**	**0**	**61**	**18**	**336**	**487**	**376**	**111**	**1279**	**400**	**879**	**45**

तक्ता क्र. ५० (चालू)

Table No. 50 (Continued)

Sr. No.	Unit	Riots (Total)	Communal	Industrial	Political	Caste Conflict			Agrarian	Students	Sectarian	Others (Other Than the previous columns)
						Caste Conflict (Total)	SC/STs Vs. Non-SCs/STs	Others				
1	**2**	**33**	**34**	**35**	**36**	**37**	**38**	**39**	**40**	**41**	**42**	**43**
1	Akola	8	0	0	0	0	0	0	0	0	0	8
2	Amravati Rural	0	0	0	0	0	0	0	0	0	0	0
3	Buldhana	16	1	0	0	0	0	0	0	0	0	15
4	Yavatmal	1	0	0	0	1	0	1	0	0	0	0
5	Washim	1	0	0	0	0	0	0	0	0	0	1
*	**Amaravati Range**	**26**	**1**	**0**	**0**	**1**	**0**	**1**	**0**	**0**	**0**	**24**
6	Aurangabad Rural	16	0	0	0	0	0	0	0	0	0	16
7	Jalna	6	0	0	0	0	0	0	0	0	0	6
8	Beed	15	0	0	0	0	0	0	0	0	0	15
9	Osmanabad	18	0	0	0	0	0	0	0	0	0	18
*	**A'bad Range**	**55**	**0**	**0**	**0**	**0**	**0**	**0**	**0**	**0**	**0**	**55**
10	Nanded	9	0	0	0	0	0	0	0	0	0	9
11	Latur	2	0	0	0	0	0	0	0	0	0	2
12	Parbhani	4	0	0	0	4	4	0	0	0	0	0
13	Hingoli	8	0	0	0	0	0	0	0	0	0	8
*	**Nanded Range**	**23**	**0**	**0**	**0**	**4**	**4**	**0**	**0**	**0**	**0**	**19**
14	Kolhapur	24	0	0	0	0	0	0	0	0	0	24
15	Pune Rural	4	0	0	0	0	0	0	0	0	0	4
16	Sangli	25	0	0	0	0	0	0	0	0	0	25
17	Satara	37	0	0	1	0	0	0	0	0	0	36
18	Solapur Rural	19	0	0	0	0	0	0	0	0	0	19
*	**Kolhapur Range**	**109**	**0**	**0**	**1**	**0**	**0**	**0**	**0**	**0**	**0**	**108**
19	Bhandara	1	0	0	0	0	0	0	0	0	0	1
20	Chandrapur	0	0	0	0	0	0	0	0	0	0	0
21	Nagpur Rural	2	0	0	0	0	0	0	0	0	0	2
22	Wardha	3	0	0	0	0	0	0	0	0	0	3
*	**Nagpur Range**	**6**	**0**	**0**	**0**	**0**	**0**	**0**	**0**	**0**	**0**	**6**
23	Gadchiroli	1	0	0	0	0	0	0	0	0	0	1
24	Gondia	0	0	0	0	0	0	0	0	0	0	0
*	**Gadchiroli Range**	**1**	**0**	**0**	**0**	**0**	**0**	**0**	**0**	**0**	**0**	**1**
25	Ahmednagar	0	0	0	0	0	0	0	0	0	0	0
26	Dhule	4	0	0	0	0	0	0	0	0	0	4
27	Jalgaon	25	2	0	1	0	0	0	0	0	0	22
28	Nasik Rural	2	0	0	0	0	0	0	0	0	0	10
29	Nandurbar	10	0	0	0	0	0	0	0	0	0	2
*	**Nasik Range**	**41**	**2**	**0**	**1**	**0**	**0**	**0**	**0**	**0**	**0**	**38**
30	Raigad	6	0	0	0	1	1	0	0	0	0	5
31	Ratnagiri	10	1	0	1	0	0	0	0	0	0	8
32	Sindhudurg	1	0	0	0	0	0	0	0	0	0	1
33	Thane Rural	8	0	0	0	0	0	0	0	0	0	8
34	Palghar	5	0	0	0	0	0	0	1	0	0	4
*	**Thane Range**	**30**	**1**	**0**	**1**	**1**	**1**	**0**	**1**	**0**	**0**	**26**
35	Mumbai Railway	1	0	0	0	0	0	0	0	0	0	1
36	Pune Railway	0	0	0	0	0	0	0	0	0	0	0
37	Nagpur Railway	0	0	0	0	0	0	0	0	0	0	0
*	**Railways Range**	**1**	**0**	**0**	**0**	**0**	**0**	**0**	**0**	**0**	**0**	**1**
38	Nagpur Commr.	15	0	0	0	0	0	0	0	0	0	15
39	Pune Commr.	44	0	0	0	0	0	0	0	0	0	44
40	Thane Commr.	27	0	0	0	0	0	0	0	0	0	27
41	Mumbai Commr.	28	0	0	0	0	0	0	0	0	0	28
42	Nasik Commr.	5	0	0	0	0	0	0	0	0	0	5
43	Aurangabad Commr.	5	0	0	0	0	0	0	0	0	0	5
44	Solapur Commr.	2	0	0	0	0	0	0	0	0	0	2
45	Navi Mumbai	5	0	0	1	0	0	0	0	0	0	4
46	Amravati Commr.	0	0	0	0	0	0	0	0	0	0	0
*	**Total of Commrs.**	**131**	**0**	**0**	**1**	**0**	**0**	**0**	**0**	**0**	**0**	**130**
**	**Total**	**423**	**4**	**0**	**4**	**6**	**5**	**1**	**1**	**0**	**0**	**408**

तक्ता क्र. ५० (चालू)

Table No. 50 (Continued)

Sr. No.	Unit	Criminal Breach of Trust (Section 406 to 409 IPC)	Cheating (Section 419 to 420 IPC)	Forgery (Section 468 & 471 IPC)	Counterfeiting (Section 231 - 254 And 489-A To 489-E IPC)					
					Counterfeiting (Total)	Offences Related To Counterfeit Coin (Section 231-235,237, 238-240 & 242-243 IPC)	Counterfeiting Government Stamp (Section 255 IPC)	Counterfeit Currency & Bank Notes (Sect. 489-A To 489-E IPC)		
								Counterfeit Currency & Bank Notes (Total)	Counterfeiting Currency- Notes Or Bank Notes (Section 489A IPC)	Using As Genuine, Forged Or Counterfeiting Currency / Bank Notes (Section 489B IPC)
1	2	44	45	46	47	48	49	50	51	52
1	Akola	0	0	0	0	0	0	0	0	0
2	Amravati Rural	0	0	0	0	0	0	0	0	0
3	Buldhana	0	0	0	0	0	0	0	0	0
4	Yavatmal	0	0	0	0	0	0	0	0	0
5	Washim	0	0	0	0	0	0	0	0	0
*	**Amaravati Range**	**0**	**0**	**0**	**0**	**0**	**0**	**0**	**0**	**0**
6	Aurangabad Rural	0	0	0	0	0	0	0	0	0
7	Jalna	0	0	0	0	0	0	0	0	0
8	Beed	0	0	0	0	0	0	0	0	0
9	Osmanabad	0	1	0	0	0	0	0	0	0
*	**A'bad Range**	**0**	**1**	**0**	**0**	**0**	**0**	**0**	**0**	**0**
10	Nanded	0	0	0	0	0	0	0	0	0
11	Latur	0	0	0	0	0	0	0	0	0
12	Parbhani	0	0	0	0	0	0	0	0	0
13	Hingoli	0	0	0	0	0	0	0	0	0
*	**Nanded Range**	**0**	**0**	**0**	**0**	**0**	**0**	**0**	**0**	**0**
14	Kolhapur	0	0	0	0	0	0	0	0	0
15	Pune Rural	0	0	0	0	0	0	0	0	0
16	Sangli	0	0	0	0	0	0	0	0	0
17	Satara	0	1	0	0	0	0	0	0	0
18	Solapur Rural	0	0	0	0	0	0	0	0	0
*	**Kolhapur Range**	**0**	**1**	**0**	**0**	**0**	**0**	**0**	**0**	**0**
19	Bhandara	0	0	0	0	0	0	0	0	0
20	Chandrapur	3	0	0	0	0	0	0	0	0
21	Nagpur Rural	0	0	0	0	0	0	0	0	0
22	Wardha	0	0	0	0	0	0	0	0	0
*	**Nagpur Range**	**3**	**0**	**0**	**0**	**0**	**0**	**0**	**0**	**0**
23	Gadchiroli	0	0	0	0	0	0	0	0	0
24	Gondia	0	0	0	0	0	0	0	0	0
*	**Gadchiroli Range**	**0**	**0**	**0**	**0**	**0**	**0**	**0**	**0**	**0**
25	Ahmednagar	0	0	0	0	0	0	0	0	0
26	Dhule	0	0	0	0	0	0	0	0	0
27	Jalgaon	1	1	0	0	0	0	0	0	0
28	Nasik Rural	0	1	0	0	0	0	0	0	0
29	Nandurbar	0	1	0	0	0	0	0	0	0
*	**Nasik Range**	**1**	**3**	**0**	**0**	**0**	**0**	**0**	**0**	**0**
30	Raigad	0	0	0	0	0	0	0	0	0
31	Ratnagiri	0	1	0	0	0	0	0	0	0
32	Sindhudurg	0	0	0	0	0	0	0	0	0
33	Thane Rural	0	0	0	0	0	0	0	0	0
34	Palghar	0	0	0	0	0	0	0	0	0
*	**Thane Range**	**0**	**1**	**0**	**0**	**0**	**0**	**0**	**0**	**0**
35	Mumbai Railway	0	1	0	1	0	0	1	0	1
36	Pune Railway	0	0	0	0	0	0	0	0	0
37	Nagpur Railway	0	0	0	0	0	0	0	0	0
*	**Railways Range**	**0**	**1**	**0**	**1**	**0**	**0**	**1**	**0**	**1**
38	Nagpur Commr.	0	1	0	0	0	0	0	0	0
39	Pune Commr.	0	2	0	0	0	0	0	0	0
40	Thane Commr.	0	0	0	0	0	0	0	0	0
41	Mumbai Commr.	0	3	0	0	0	0	0	0	0
42	Nasik Commr.	0	0	0	0	0	0	0	0	0
43	Aurangabad Commr.	0	0	0	0	0	0	0	0	0
44	Solapur Commr.	0	0	0	0	0	0	0	0	0
45	Navi Mumbai	0	1	0	0	0	0	0	0	0
46	Amravati Commr.	0	0	0	0	0	0	0	0	0
*	**Total of Commrs.**	**0**	**7**	**0**	**0**	**0**	**0**	**0**	**0**	**0**
**	**Total**	**4**	**14**	**0**	**1**	**0**	**0**	**1**	**0**	**1**

तक्ता क्र. ५० (चालू)

Table No. 50 (Continued)

Sr. No.	Unit	Counterfeit Currency & Bank Notes (Section 489-A To 489-E IPC) (concluded)			Arson (Section 436 IPC)	Grievous Hurt (325,326,326A & 326 B IPC)			
		Possession of forged/ Counterfeit currency (sec 489c IPC)	Making or Possessing Material for forged Currency/Notes (Sectin 489D IPC)	Making or Using documents resembling Currency Notes(Section 489E IPC)		Grievous Hurt (325,326,326 A & 326 B IPC) Total	Counterfeit Currency & Bank Notes (Total)	Counterfeiting Currency-Notes Or Bank Notes (Section 489A IPC)	Using As Genuine, Forged Or Counterfeiting Currency / Bank Notes (Section 489B IPC)
1	2	53	54	55	56	57	58	59	60
1	Akola	0	0	0	1	6	6	0	0
2	Amravati Rural	0	0	0	0	3	3	0	0
3	Buldhana	0	0	0	2	0	0	0	0
4	Yavatmal	0	0	0	0	0	0	0	0
5	Washim	0	0	0	0	9	9	0	0
*	**Amaravati Range**	**0**	**0**	**0**	**3**	**18**	**18**	**0**	**0**
6	Aurangabad Rural	0	0	0	0	2	2	0	0
7	Jalna	0	0	0	0	6	6	0	0
8	Beed	0	0	0	0	1	1	0	0
9	Osmanabad	0	0	0	0	1	1	0	0
*	**A'bad Range**	**0**	**0**	**0**	**0**	**10**	**10**	**0**	**0**
10	Nanded	0	0	0	0	3	3	0	0
11	Latur	0	0	0	0	4	4	0	0
12	Parbhani	0	0	0	0	9	9	0	0
13	Hingoli	0	0	0	0	1	1	0	0
*	**Nanded Range**	**0**	**0**	**0**	**0**	**17**	**17**	**0**	**0**
14	Kolhapur	0	0	0	2	13	13	0	0
15	Pune Rural	0	0	0	0	2	2	0	0
16	Sangli	0	0	0	0	6	6	0	0
17	Satara	0	0	0	0	4	4	0	0
18	Solapur Rural	0	0	0	1	5	5	0	0
*	**Kolhapur Range**	**0**	**0**	**0**	**3**	**30**	**30**	**0**	**0**
19	Bhandara	0	0	0	0	1	1	0	0
20	Chandrapur	0	0	0	0	1	1	0	0
21	Nagpur Rural	0	0	0	0	0	0	0	0
22	Wardha	0	0	0	0	1	1	0	0
*	**Nagpur Range**	**0**	**0**	**0**	**0**	**3**	**3**	**0**	**0**
23	Gadchiroli	0	0	0	0	0	0	0	0
24	Gondia	0	0	0	0	2	2	0	0
*	**Gadchiroli Range**	**0**	**0**	**0**	**0**	**2**	**2**	**0**	**0**
25	Ahmednagar	0	0	0	0	15	15	0	
26	Dhule	0	0	0	0	0	0	0	0
27	Jalgaon	0	0	0	0	3	3	0	0
28	Nasik Rural	0	0	0	1	12	12	0	0
29	Nandurbar	0	0	0	0	2	2	0	0
*	**Nasik Range**	**0**	**0**	**0**	**1**	**32**	**32**	**0**	**0**
30	Raigad	0	0	0	0	2	2	0	0
31	Ratnagiri	0	0	0	1	0	0	0	0
32	Sindhudurg	0	0	0	0	0	0	0	0
33	Thane Rural	0	0	0	0	7	7	0	0
34	Palghar	0	0	0	0	7	7	0	0
*	**Thane Range**	**0**	**0**	**0**	**1**	**16**	**16**	**0**	**0**
35	Mumbai Railway	0	0	0	0	1	1	0	0
36	Pune Railway	0	0	0	0	0	0	0	0
37	Nagpur Railway	0	0	0	0	1	1	0	0
*	**Railways Range**	**0**	**0**	**0**	**0**	**2**	**2**	**0**	**0**
38	Nagpur Commr.	0	0	0	1	19	19	0	0
39	Pune Commr.	0	0	0	1	72	72	0	0
40	Thane Commr.	0	0	0	0	24	24	0	0
41	Mumbai Commr.	0	0	0	1	72	72	0	0
42	Nasik Commr.	0	0	0	1	6	6	0	0
43	Aurangabad Commr.	0	0	0	0	21	21	0	0
44	Solapur Commr.	0	0	0	0	0	0	0	0
45	Navi Mumbai	0	0	0	0	6	6	0	0
46	Amravati Commr.	0	0	0	0	1	1	0	0
*	**Total of Commrs.**	**0**	**0**	**0**	**4**	**221**	**221**	**0**	**0**
**	**Total**	**0**	**0**	**0**	**12**	**351**	**351**	**0**	**0**

तक्ता क्र. ५० (चालू)

Table No. 50 (Continued)

Sr. No.	Unit	Dowry Deaths (Section 304-B IPC)	Assault On Women With Intent To Outrage Her Modesty (Section 354 IPC)						Insult To The Modesty Of Women (Section 509 IPC)					Cruelty By Husband Or His Relatives (Section 498-A IPC)
			Assault On Women With Intent To Outrage Her Modesty (Section 354 IPC) (Total)	Sexual Harassment (Section 354A IPC)	Asault Or Use Of Criminal Force To Women With Intent To Disrobe (Section 354B IPC)	Voyeurism(Section 354C IPC)	Stalking (Section 354D IPC)	Other	Insult To The Modesty Of Women (Total)	At Office Premises	Other Places Related To Work	In Public Transport System	Places Other Than (Previous Columns)	
1	2	61	62	63	64	65	66	67	68	69	70	71	72	73
1	Akola	0	14	0	3	0	7	4	0	0	0	0	0	4
2	Amravati Rural	0	42	11	3	5	9	14	0	0	0	0	0	0
3	Buldhana	0	7	4	0	0	1	2	1	0	0	1	0	0
4	Yavatmal	0	7	6	0	0	0	1	2	0	0	0	2	1
5	Washim	0	1	1	0	0	0	0	0	0	0	0	0	0
*	**Amaravati Range**	**0**	**71**	**22**	**6**	**5**	**17**	**21**	**3**	**0**	**0**	**1**	**2**	**5**
6	Aurangabad Rural	0	7	6	0	0	0	1	0	0	0	0	0	0
7	Jalna	0	6	4	0	0	0	2	0	0	0	0	0	1
8	Beed	0	7	2	0	0	1	4	0	0	0	0	0	0
9	Osmanabad	0	2	2	0	0	0	0	0	0	0	0	0	0
*	**A'bad Range**	**0**	**22**	**14**	**0**	**0**	**1**	**7**	**0**	**0**	**0**	**0**	**0**	**1**
10	Nanded	1	9	9	0	0	0	0	3	0	0	0	3	0
11	Latur	0	9	0	0	0	0	9	0	0	0	0	0	0
12	Parbhani	1	10	6	1	0	1	2	0	0	0	0	0	0
13	Hingoli	0	4	2	0	0	1	1	0	0	0	0	0	0
*	**Nanded Range**	**2**	**32**	**17**	**1**	**0**	**2**	**12**	**3**	**0**	**0**	**0**	**3**	**0**
14	Kolhapur	3	5	1	0	1	1	2	0	0	0	0	0	0
15	Pune Rural	0	10	5	0	0	1	4	0	0	0	0	0	1
16	Sangli	0	10	0	0	1	2	7	0	0	0	0	0	2
17	Satara	0	15	5	2	0	5	3	0	0	0	0	0	0
18	Solapur Rural	0	6	0	2	0	0	4	0	0	0	0	0	0
*	**Kolhapur Range**	**3**	**46**	**11**	**4**	**2**	**9**	**20**	**0**	**0**	**0**	**0**	**0**	**3**
19	Bhandara	0	2	2	0	0	0	0	0	0	0	0	0	0
20	Chandrapur	0	4	0	0	0	0	4	0	0	0	0	0	0
21	Nagpur Rural	0	1	0	0	0	0	1	1	0	0	0	1	0
22	Wardha	0	2	2	0	0	0	0	0	0	0	0	0	0
*	**Nagpur Range**	**0**	**9**	**4**	**0**	**0**	**0**	**5**	**1**	**0**	**0**	**0**	**1**	**0**
23	Gadchiroli	0	0	0	0	0	0	0	0	0	0	0	0	0
24	Gondia	0	9	4	0	0	0	5	0	0	0	0	0	2
*	**Gadchiroli Range**	**0**	**9**	**4**	**0**	**0**	**0**	**5**	**0**	**0**	**0**	**0**	**0**	**2**
25	Ahmednagar	0	4	4	0	0	0	0	0	0	0	0	0	0
26	Dhule	0	1	0	0	0	0	1	0	0	0	0	0	0
27	Jalgaon	0	6	6	0	0	0	0	1	0	0	0	1	4
28	Nasik Rural	1	2	2	0	0	0	0	0	0	0	0	0	0
29	Nandurbar	0	1	1	0	0	0	0	0	0	0	0	0	0
*	**Nasik Range**	**1**	**14**	**13**	**0**	**0**	**0**	**1**	**1**	**0**	**0**	**0**	**1**	**4**
30	Raigad	0	3	1	0	0	1	1	2	0	0	0	2	0
31	Ratnagiri	0	0	0	0	0	0	0	0	0	0	0	0	0
32	Sindhudurg	0	0	0	0	0	0	0	0	0	0	0	0	0
33	Thane Rural	0	6	3	0	0	0	3	0	0	0	0	0	0
34	Palghar	0	5	0	0	0	2	3	0	0	0	0	0	0
*	**Thane Range**	**0**	**14**	**4**	**0**	**0**	**3**	**7**	**2**	**0**	**0**	**0**	**2**	**0**
35	Mumbai Railway	0	4	1	0	0	0	3	0	0	0	0	0	0
36	Pune Railway	0	0	0	0	0	0	0	0	0	0	0	0	0
37	Nagpur Railway	0	0	0	0	0	0	0	0	0	0	0	0	0
*	**Railways Range**	**0**	**4**	**1**	**0**	**0**	**0**	**3**	**0**	**0**	**0**	**0**	**0**	**0**
38	Nagpur Commr.	0	9	5	1	0	1	2	0	0	0	0	0	0
39	Pune Commr.	0	29	23	3	0	1	2	2	0	0	0	2	0
40	Thane Commr.	0	17	7	0	0	4	6	1	0	1	0	0	0
41	Mumbai Commr.	0	48	18	3	0	8	19	2	0	0	0	2	2
42	Nasik Commr.	0	7	5	0	0	0	2	0	0	0	0	0	1
43	Aurangabad Commr.	0	8	0	0	0	3	5	0	0	0	0	0	2
44	Solapur Commr.	0	2	0	0	0	0	2	0	0	0	0	0	0
45	Navi Mumbai	0	5	2	0	0	1	2	0	0	0	0	0	0
46	Amravati Commr.	0	1	1	0	0	0	0	0	0	0	0	0	0
*	**Total of Commrs.**	**0**	**126**	**61**	**7**	**0**	**18**	**40**	**5**	**0**	**1**	**0**	**4**	**5**
**	**Total**	**6**	**347**	**151**	**18**	**7**	**50**	**121**	**15**	**0**	**1**	**1**	**13**	**20**

तक्ता क्र. ५० (चालू)

Table No. 50 (Continued)

Sr. No.	Unit	Importation Of Girls From Foreign Country (Section 366-B IPC)	Causing Death By Negligence (Section 304-A IPC)			Offences Against State (Section 121, 121A, 122, 123, 124-A IPC)			Offences Promoting Enmity Between Different Groups (Section 153A & 153B IPC)		
			Causing Death By Negligence (Section 304-A IPC)	Deaths Due To Rash/Negligent Driving	Deaths Due To Other Causes	Offences Against State (Section 121, 121A, 122, 123, 124-A IPC)	Sedition (Section 124A IPC)	Others (Section 121, 121A, 122 & 123 IPC)	Offences Promoting Enmity Between Different Groups (Section 153A & 153B IPC)	Promoting Enmity Between Different Groups On Ground Of Religion, Race, Place Of Birth, Etc (Section 153A IPC)	Imputation, Assertions Prejudicial To National Integration (Section 153B IPC)
1	2	74	75	76	77	78	79	80	81	82	83
1	Akola	0	1	1	0	0	0	0	0	0	0
2	Amravati Rural	0	17	17	0	0	0	0	0	0	0
3	Buldhana	0	0	0	0	0	0	0	0	0	0
4	Yavatmal	0	0	0	0	0	0	0	0	0	0
5	Washim	0	0	0	0	0	0	0	0	0	0
*	**Amaravati Range**	**0**	**18**	**18**	**0**	**0**	**0**	**0**	**0**	**0**	**0**
6	Aurangabad Rural	0	0	0	0	0	0	0	0	0	0
7	Jalna	0	3	0	3	0	0	0	0	0	0
8	Beed	0	1	1	0	0	0	0	0	0	0
9	Osmanabad	0	1	1	0	0	0	0	0	0	0
*	**A'bad Range**	**0**	**5**	**2**	**3**	**0**	**0**	**0**	**0**	**0**	**0**
10	Nanded	0	0	0	0	0	0	0	0	0	0
11	Latur	0	0	0	0	0	0	0	0	0	0
12	Parbhani	0	0	0	0	0	0	0	0	0	0
13	Hingoli	0	9	9	0	0	0	0	0	0	0
*	**Nanded Range**	**0**	**9**	**9**	**0**	**0**	**0**	**0**	**0**	**0**	**0**
14	Kolhapur	0	0	0	0	0	0	0	0	0	0
15	Pune Rural	0	1	1	0	0	0	0	0	0	0
16	Sangli	0	2	2	0	0	0	0	0	0	0
17	Satara	0	6	5	1	0	0	0	0	0	0
18	Solapur Rural	0	0	0	0	0	0	0	0	0	0
*	**Kolhapur Range**	**0**	**9**	**8**	**1**	**0**	**0**	**0**	**0**	**0**	**0**
19	Bhandara	0	0	0	0	0	0	0	0	0	0
20	Chandrapur	0	0	0	0	0	0	0	0	0	0
21	Nagpur Rural	0	4	4	0	0	0	0	0	0	0
22	Wardha	0	2	2	0	0	0	0	0	0	0
*	**Nagpur Range**	**0**	**6**	**6**	**0**	**0**	**0**	**0**	**0**	**0**	**0**
23	Gadchiroli	0	0	0	0	0	0	0	0	0	0
24	Gondia	0	0	0	0	0	0	0	0	0	0
*	**Gadchiroli Range**	**0**	**0**	**0**	**0**	**0**	**0**	**0**	**0**	**0**	**0**
25	Ahmednagar	0	0	0	0	0	0	0	0	0	0
26	Dhule	0	0	0	0	0	0	0	0	0	0
27	Jalgaon	0	0	0	0	0	0	0	0	0	0
28	Nasik Rural	0	0	0	0	0	0	0	0	0	0
29	Nandurbar	0	0	0	0	0	0	0	0	0	0
*	**Nasik Range**	**0**	**0**	**0**	**0**	**0**	**0**	**0**	**0**	**0**	**0**
30	Raigad	0	3	3	0	0	0	0	0	0	0
31	Ratnagiri	0	1	1	0	0	0	0	0	0	0
32	Sindhudurg	0	0	0	0	0	0	0	0	0	0
33	Thane Rural	0	2	2	0	0	0	0	0	0	0
34	Palghar	0	1	1	0	0	0	0	0	0	0
*	**Thane Range**	**0**	**7**	**7**	**0**	**0**	**0**	**0**	**0**	**0**	**0**
35	Mumbai Railway	0	0	0	0	0	0	0	0	0	0
36	Pune Railway	0	0	0	0	0	0	0	0	0	0
37	Nagpur Railway	0	0	0	0	0	0	0	0	0	0
*	**Railways Range**	**0**	**0**	**0**	**0**	**0**	**0**	**0**	**0**	**0**	**0**
38	Nagpur Commr.	0	4	4	0	0	0	0	0	0	0
39	Pune Commr.	0	8	7	1	0	0	0	0	0	0
40	Thane Commr.	0	8	7	1	0	0	0	0	0	0
41	Mumbai Commr.	0	10	9	1	0	0	0	0	0	0
42	Nasik Commr.	0	2	2	0	0	0	0	0	0	0
43	Aurangabad Commr.	0	1	1	0	0	0	0	0	0	0
44	Solapur Commr.	0	1	1	0	0	0	0	0	0	0
45	Navi Mumbai	0	2	2	0	0	0	0	0	0	0
46	Amravati Commr.	0	0	0	0	0	0	0	0	0	0
*	**Total of Commrs.**	**0**	**36**	**33**	**3**	**0**	**0**	**0**	**0**	**0**	**0**
**	**Total**	**0**	**90**	**83**	**7**	**0**	**0**	**0**	**0**	**0**	**0**

तक्ता क्र. ५० (पूर्ण)

TABLE NO. 50 (Concluded)

Sr. No.	Unit	Extortion (Section 384 IPC)	Disclosure Of Identity Of Victims (Section 228 A IPC)	Incidence Of Rash Driving/Road Rage (Under Section 279 IPC) (Read With Other Sections Of IPC Also)	Human trafficking (Under Section 370 & 370A IPC)	Unnatural Offences	Other IPC Crimes	Total Cognizable IPC Crimes (Excluding columns of Sub crime Heads)
1	**2**	**84**	**85**	**86**	**87**	**88**	**89**	**90**
1	Akola	0	0	0	0	0	34	126
2	Amravati Rural	0	0	25	0	0	83	209
3	Buldhana	0	0	1	0	0	30	87
4	Yavatmal	0	0	1	0	0	18	64
5	Washim	0	0	0	0	1	2	26
*	**Amaravati Range**	**0**	**0**	**27**	**0**	**1**	**167**	**512**
6	Aurangabad Rural	0	0	1	0	1	14	68
7	Jalna	0	0	0	0	0	8	83
8	Beed	0	0	2	0	0	12	83
9	Osmanabad	0	0	1	0	0	27	96
*	**A'bad Range**	**0**	**0**	**4**	**0**	**1**	**61**	**330**
10	Nanded	0	0	7	0	0	51	125
11	Latur	0	0	0	0	0	6	45
12	Parbhani	0	0	1	0	0	22	80
13	Hingoli	0	0	0	0	0	5	38
*	**Nanded Range**	**0**	**0**	**8**	**0**	**0**	**84**	**288**
14	Kolhapur	0	0	3	0	0	19	143
15	Pune Rural	0	0	0	0	0	3	58
16	Sangli	0	0	1	0	1	27	142
17	Satara	0	0	0	0	0	34	192
18	Solapur Rural	0	0	2	0	1	21	85
*	**Kolhapur Range**	**0**	**0**	**6**	**0**	**2**	**104**	**620**
19	Bhandara	0	0	4	0	0	8	51
20	Chandrapur	0	0	5	0	0	24	75
21	Nagpur Rural	0	0	2	0	0	17	47
22	Wardha	0	0	0	0	0	20	62
*	**Nagpur Range**	**0**	**0**	**11**	**0**	**0**	**69**	**235**
23	Gadchiroli	0	0	0	0	0	3	9
24	Gondia	0	0	0	0	0	17	73
*	**Gadchiroli Range**	**0**	**0**	**0**	**0**	**0**	**20**	**82**
25	Ahmednagar	0	0	0	0	0	0	47
26	Dhule	0	0	0	0	0	3	15
27	Jalgaon	0	0	9	0	0	13	110
28	Nasik Rural	0	0	1	0	1	6	82
29	Nandurbar	1	0	1	0	0	1	24
*	**Nasik Range**	**1**	**0**	**11**	**0**	**1**	**23**	**278**
30	Raigad	0	0	10	0	1	6	67
31	Ratnagiri	0	0	3	0	0	12	48
32	Sindhudurg	0	0	1	0	0	1	8
33	Thane Rural	0	0	4	0	0	5	65
34	Palghar	0	0	3	0	0	2	105
*	**Thane Range**	**0**	**0**	**21**	**0**	**1**	**26**	**293**
35	Mumbai Railway	0	0	0	0	0	8	172
36	Pune Railway	0	0	0	0	0	0	25
37	Nagpur Railway	0	0	0	0	0	0	13
*	**Railways Range**	**0**	**0**	**0**	**0**	**0**	**8**	**210**
38	Nagpur Commr.	2	0	7	0	1	35	266
39	Pune Commr.	6	0	19	0	4	74	640
40	Thane Commr.	2	0	13	0	0	65	363
41	Mumbai Commr.	2	0	38	0	18	214	873
42	Nasik Commr.	0	0	6	0	1	18	111
43	Aurangabad Commr.	1	0	3	0	0	26	161
44	Solapur Commr.	0	0	0	0	0	12	39
45	Navi Mumbai	2	0	9	0	2	16	149
46	Amravati Commr.	0	0	1	0	0	5	32
*	**Total of Commrs.**	**15**	**0**	**96**	**0**	**26**	**465**	**2634**
**	**Total**	**16**	**0**	**184**	**0**	**32**	**1027**	**5482**

तक्ता क्र. ५१

विधीसंघर्षग्रस्त बाल यांचे विशेष व स्थानिक कायदयाखालील शीर्ष व घटक-निहाय गुन्हे, सन २०१५

TABLE NO. 51

Juvenile In Conflict With Law Under Different Crime Heads (SII) During 2015 Unit-Wise

S.No.	Unit	Arms Act, 1959	Narcotic Drugs & Psychotropic Substances Act, 1985	Gambling Act, 1867	Excise Act, 1944	Prohibition Act	Explosives & Explosive Substances Act, 1884 & 1908	Immoral Traffic (Prevention) Act, 1956						Indian Railways Act, 1989	Registration Of Foreigners Act, 1939
								Immoral Traffic (Prevention) Act,1956 (Total)	Under Section 5	Under Section 6	Under Section 7	Under Section 8	Others		
1	2	3	4	5	6	7	8	9	10	11	12	13	14	15	16
1	Akola	0	0	6	0	6	0	0	0	0	0	0	0	0	0
2	Amravati Rural	0	0	0	0	0	0	0	0	0	0	0	0	0	0
3	Buldhana	0	0	1	0	0	0	0	0	0	0	0	0	0	0
4	Yavatmal	1	0	0	0	8	0	0	0	0	0	0	0	0	0
5	Washim	0	0	0	0	0	0	0	0	0	0	0	0	0	0
*	**Amaravati Range**	**1**	**0**	**7**	**0**	**14**	**0**	**0**	**0**	**0**	**0**	**0**	**0**	**0**	**0**
6	Aurangabad Rural	0	0	1	0	0	0	0	0	0	0	0	0	0	0
7	Jalna	0	0	4	0	3	0	0	0	0	0	0	0	0	0
8	Beed	0	0	0	0	0	0	0	0	0	0	0	0	0	0
9	Osmanabad	0	1	0	0	2	0	0	0	0	0	0	0	0	0
*	**A'bad Range**	**0**	**1**	**5**	**0**	**5**	**0**	**0**	**0**	**0**	**0**	**0**	**0**	**0**	**0**
10	Nanded	1	0	1	0	0	0	1	0	0	0	0	1	0	0
11	Latur	0	0	0	0	0	0	0	0	0	0	0	0	0	0
12	Parbhani	0	0	0	0	2	0	0	0	0	0	0	0	0	0
13	Hingoli	1	1	0	0	1	0	0	0	0	0	0	0	0	0
*	**Nanded Range**	**2**	**1**	**1**	**0**	**3**	**0**	**1**	**0**	**0**	**0**	**0**	**1**	**0**	**0**
14	Kolhapur	0	0	0	0	0	0	0	0	0	0	0	0	0	0
15	Pune Rural	1	0	0	0	0	0	0	0	0	0	0	0	0	0
16	Sangli	1	0	0	0	1	0	0	0	0	0	0	0	0	0
17	Satara	2	0	0	0	2	0	0	0	0	0	0	0	0	0
18	Solapur Rural	0	0	1	0	0	0	0	0	0	0	0	0	0	0
*	**Kolhapur Range**	**4**	**0**	**1**	**0**	**3**	**0**	**0**	**0**	**0**	**0**	**0**	**0**	**0**	**0**
19	Bhandara	0	0	0	0	2	0	0	0	0	0	0	0	0	0
20	Chandrapur	0	0	4	0	11	0	0	0	0	0	0	0	0	0
21	Nagpur Rural	0	0	1	0	0	0	0	0	0	0	0	0	0	0
22	Wardha	0	0	0	0	0	0	0	0	0	0	0	0	0	0
*	**Nagpur Range**	**0**	**0**	**5**	**0**	**13**	**0**	**0**	**0**	**0**	**0**	**0**	**0**	**0**	**0**
23	Gadchiroli	0	0	0	0	0	0	0	0	0	0	0	0	0	0
24	Gondia	0	0	0	0	0	0	0	0	0	0	0	0	0	0
*	**Gadchiroli Range**	**0**	**0**	**0**	**0**	**0**	**0**	**0**	**0**	**0**	**0**	**0**	**0**	**0**	**0**
25	Ahmednagar	0	0	0	0	0	0	0	0	0	0	0	0	0	0
26	Dhule	1	0	0	0	0	0	0	0	0	0	0	0	0	0
27	Jalgaon	0	0	0	0	0	0	0	0	0	0	0	0	0	0
28	Nasik Rural	0	0	0	0	0	0	0	0	0	0	0	0	0	0
29	Nandurbar	0	0	0	0	0	0	0	0	0	0	0	0	0	0
*	**Nasik Range**	**1**	**0**	**0**	**0**	**0**	**0**	**0**	**0**	**0**	**0**	**0**	**0**	**0**	**0**
30	Raigad	0	0	0	0	0	0	0	0	0	0	0	0	0	0
31	Ratnagiri	2	0	0	0	0	0	0	0	0	0	0	0	0	0
32	Sindhudurg	0	0	0	0	0	0	0	0	0	0	0	0	1	0
33	Thane Rural	0	0	0	0	0	0	0	0	0	0	0	0	0	0
34	Palghar	0	0	0	0	0	0	0	0	0	0	0	0	0	0
*	**Thane Range**	**2**	**0**	**0**	**0**	**0**	**0**	**0**	**0**	**0**	**0**	**0**	**0**	**1**	**0**
35	Mumbai Railway	0	0	0	0	0	0	0	0	0	0	0	0	0	0
36	Pune Railway	0	0	0	0	0	0	0	0	0	0	0	0	0	0
37	Nagpur Railway	0	0	0	0	0	0	0	0	0	0	0	0	0	0
*	**Railways Range**	**0**	**0**	**0**	**0**	**0**	**0**	**0**	**0**	**0**	**0**	**0**	**0**	**0**	**0**
38	Nagpur Commr.	1	0	1	0	1	0	0	0	0	0	0	0	0	0
39	Pune Commr.	0	1	0	0	0	0	0	0	0	0	0	0	0	0
40	Thane Commr.	0	1	0	0	0	0	0	0	0	0	0	0	0	0
41	Mumbai Commr.	3	24	2	0	1	0	0	0	0	0	0	0	0	0
42	Nasik Commr.	0	0	1	0	0	1	0	0	0	0	0	0	0	0
43	Aurangabad Commr.	0	0	0	0	0	0	0	0	0	0	0	0	0	0
44	Solapur Commr.	0	0	0	0	0	0	0	0	0	0	0	0	0	0
45	Navi Mumbai	0	0	0	0	0	0	0	0	0	0	0	0	0	0
46	Amravati Commr.	0	0	0	0	0	0	0	0	0	0	0	0	0	0
*	**Total of Commrs.**	**4**	**26**	**4**	**0**	**2**	**1**	**0**	**0**	**0**	**0**	**0**	**0**	**0**	**0**
**	**Total**	**14**	**28**	**23**	**0**	**40**	**1**	**1**	**0**	**0**	**0**	**0**	**1**	**1**	**0**

TABLE NO. 51 (Continued)

S.No.	Unit	Protection Of Civil Rights Act, 1955				Passport Act, 1967	Essential Commodities Act, 1955	Antiquities & Art Treasures Act, 1972	Dowry Prohibition Act, 1961	Indecent Representation Of Women (Prohibition) Act, 1986	Copyright Act, 1957	Commission Of Sati Prevention Act 1987	SC/ST (Prevention Of Atrocities) Act, 1989		
		Protection Of Civil Rights Act, 1955 (Total)	For Crimes Committed Against SCs	For Crimes Committed Against STs	For Crimes Committed Against Others								SC/ST (Prevention Of Atrocities) Act, 1989	for Crimes Committed Against SCs	For Crimes Committed Against STs
1	2	17	18	19	20	21	22	23	24	25	26	27	28	29	30
1	Akola	0	0	0	0	0	0	0	0	0	0	0	0	0	0
2	Amravati Rural	0	0	0	0	0	0	0	0	0	0	0	0	0	0
3	Buldhana	0	0	0	0	0	0	0	0	0	0	0	0	0	0
4	Yavatmal	0	0	0	0	0	0	0	0	0	0	0	0	0	0
5	Washim	0	0	0	0	0	0	0	0	0	0	0	0	0	0
*	**Amaravati Range**	**0**	**0**	**0**	**0**	**0**	**0**	**0**	**0**	**0**	**0**	**0**	**0**	**0**	**0**
6	Aurangabad Rural	0	0	0	0	0	0	0	0	0	0	0	0	0	0
7	Jalna	0	0	0	0	0	0	0	0	0	0	0	0	0	0
8	Beed	0	0	0	0	0	0	0	0	0	0	0	0	0	0
9	Osmanabad	0	0	0	0	0	0	0	0	0	0	0	4	4	0
*	**A'bad Range**	**0**	**0**	**0**	**0**	**0**	**0**	**0**	**0**	**0**	**0**	**0**	**4**	**4**	**0**
10	Nanded	0	0	0	0	0	1	0	0	0	0	0	0	0	0
11	Latur	0	0	0	0	0	0	0	0	0	0	0	0	0	0
12	Parbhani	0	0	0	0	0	0	0	0	0	0	0	0	0	0
13	Hingoli	0	0	0	0	0	0	0	0	0	0	0	0	0	0
*	**Nanded Range**	**0**	**0**	**0**	**0**	**0**	**1**	**0**	**0**	**0**	**0**	**0**	**0**	**0**	**0**
14	Kolhapur	0	0	0	0	0	0	0	0	0	0	0	0	0	0
15	Pune Rural	0	0	0	0	0	0	0	0	0	0	1	0	0	0
16	Sangli	0	0	0	0	0	0	0	0	0	0	0	0	0	0
17	Satara	0	0	0	0	0	0	0	0	0	0	0	0	0	0
18	Solapur Rural	0	0	0	0	0	0	0	0	0	0	0	0	0	0
*	**Kolhapur Range**	**0**	**0**	**0**	**0**	**0**	**0**	**0**	**0**	**0**	**0**	**1**	**0**	**0**	**0**
19	Bhandara	0	0	0	0	0	0	0	0	0	0	0	0	0	0
20	Chandrapur	0	0	0	0	0	0	0	0	0	0	0	0	0	0
21	Nagpur Rural	0	0	0	0	0	0	0	0	0	0	0	0	0	0
22	Wardha	0	0	0	0	0	0	0	0	0	0	0	0	0	0
*	**Nagpur Range**	**0**	**0**	**0**	**0**	**0**	**0**	**0**	**0**	**0**	**0**	**0**	**0**	**0**	**0**
23	Gadchiroli	0	0	0	0	0	0	0	0	0	0	0	0	0	0
24	Gondia	0	0	0	0	0	0	0	0	0	0	0	0	0	0
*	**Gadchiroli Range**	**0**	**0**	**0**	**0**	**0**	**0**	**0**	**0**	**0**	**0**	**0**	**0**	**0**	**0**
25	Ahmednagar	0	0	0	0	0	0	0	0	0	0	0	0	0	0
26	Dhule	0	0	0	0	0	0	0	0	0	0	0	0	0	0
27	Jalgaon	0	0	0	0	0	0	0	0	0	0	0	0	0	0
28	Nasik Rural	0	0	0	0	0	0	0	0	0	0	0	0	0	0
29	Nandurbar	0	0	0	0	0	0	0	0	0	0	0	0	0	0
*	**Nasik Range**	**0**	**0**	**0**	**0**	**0**	**0**	**0**	**0**	**0**	**0**	**0**	**0**	**0**	**0**
30	Raigad	0	0	0	0	0	0	0	0	0	0	0	0	0	0
31	Ratnagiri	0	0	0	0	0	0	0	0	0	0	0	0	0	0
32	Sindhudurg	0	0	0	0	0	0	0	0	0	0	0	0	0	0
33	Thane Rural	0	0	0	0	0	0	0	0	0	0	0	0	0	0
34	Palghar	0	0	0	0	0	0	0	0	0	0	0	0	0	0
*	**Thane Range**	**0**	**0**	**0**	**0**	**0**	**0**	**0**	**0**	**0**	**0**	**0**	**0**	**0**	**0**
35	Mumbai Railway	0	0	0	0	0	0	0	0	0	0	0	0	0	0
36	Pune Railway	0	0	0	0	0	0	0	0	0	0	0	0	0	0
37	Nagpur Railway	0	0	0	0	0	0	0	0	0	0	0	0	0	0
*	**Railways Range**	**0**	**0**	**0**	**0**	**0**	**0**	**0**	**0**	**0**	**0**	**0**	**0**	**0**	**0**
38	Nagpur Commr.	0	0	0	0	0	1	0	0	0	0	0	0	0	0
39	Pune Commr.	0	0	0	0	0	0	0	0	0	0	0	1	1	0
40	Thane Commr.	0	0	0	0	1	0	0	0	0	0	0	0	0	0
41	Mumbai Commr.	0	0	0	0	0	0	0	0	0	4	0	0	0	0
42	Nasik Commr.	0	0	0	0	0	0	0	0	0	0	0	0	0	0
43	Aurangabad Commr.	0	0	0	0	0	0	0	0	0	0	0	0	0	0
44	Solapur Commr.	0	0	0	0	0	0	0	0	0	0	0	0	0	0
45	Navi Mumbai	0	0	0	0	0	0	0	0	0	0	0	0	0	0
46	Amravati Commr.	0	0	0	0	0	0	0	0	0	0	0	0	0	0
*	**Total of Commrs.**	**0**	**0**	**0**	**0**	**1**	**1**	**0**	**0**	**0**	**4**	**0**	**1**	**1**	**0**
**	**Total**	**0**	**0**	**0**	**0**	**1**	**2**	**0**	**0**	**0**	**4**	**1**	**5**	**5**	**0**

TABLE NO. 51 (Continued)

S.No.	Unit	Forest Act, 1927	Prohibition Of Child Marriage Act, 2006	Protection Of Women From Domestic Violence Act, 2005	Information Technology Act, 2000	Official Secrets Act, 1923	Electricity Act, 2003	Wildlife Protection Act, 1972	Bonded Labour System (Abolition) Act, 1976 (Total)	SC/ST (Prevention Of Atrocities) Act, 1989			Environmental Protection Act, 1986	Air (Prevention & Control Of Pollution) Act, 1981	Water (Prevention & Control of Pollution) Act, 1947
										Against SC	Against ST	Against Others			
1	2	31	32	33	34	35	36	37	38	39	40	41	42	43	44
1	Akola	0	0	0	0	0	0	0	0	0	0	0	0	0	0
2	Amravati Rural	0	0	0	0	0	0	0	0	0	0	0	0	0	0
3	Buldhana	0	0	0	0	0	0	0	0	0	0	0	0	0	0
4	Yavatmal	0	0	0	0	0	0	0	0	0	0	0	0	0	0
5	Washim	0	0	0	0	0	0	0	0	0	0	0	0	0	0
*	**Amaravati Range**	**0**	**0**	**0**	**0**	**0**	**0**	**0**	**0**	**0**	**0**	**0**	**0**	**0**	**0**
6	Aurangabad Rural	0	0	0	0	0	0	0	0	0	0	0	0	0	0
7	Jalna	0	0	0	0	0	0	0	0	0	0	0	0	0	0
8	Beed	0	0	0	0	0	0	0	0	0	0	0	0	0	0
9	Osmanabad	0	0	0	0	0	0	0	0	0	0	0	0	0	0
*	**A'bad Range**	**0**	**0**	**0**	**0**	**0**	**0**	**0**	**0**	**0**	**0**	**0**	**0**	**0**	**0**
10	Nanded	0	0	0	1	0	0	0	0	0	0	0	0	0	0
11	Latur	0	0	0	0	0	0	0	0	0	0	0	0	0	0
12	Parbhani	0	0	0	0	0	0	0	0	0	0	0	0	0	0
13	Hingoli	0	0	0	0	0	0	0	0	0	0	0	0	0	0
*	**Nanded Range**	**0**	**0**	**0**	**1**	**0**	**0**	**0**	**0**	**0**	**0**	**0**	**0**	**0**	**0**
14	Kolhapur	0	0	0	0	0	0	0	0	0	0	0	0	0	0
15	Pune Rural	0	0	0	0	0	0	0	0	0	0	0	0	0	0
16	Sangli	0	0	0	0	0	0	0	0	0	0	0	0	0	0
17	Satara	0	0	0	1	0	0	0	0	0	0	0	0	0	0
18	Solapur Rural	0	0	0	0	0	0	0	0	0	0	0	0	0	0
*	**Kolhapur Range**	**0**	**0**	**0**	**1**	**0**	**0**	**0**	**0**	**0**	**0**	**0**	**0**	**0**	**0**
19	Bhandara	0	0	0	0	0	0	0	0	0	0	0	0	0	0
20	Chandrapur	0	0	0	0	0	0	0	0	0	0	0	0	0	0
21	Nagpur Rural	0	0	0	0	0	0	0	0	0	0	0	0	0	0
22	Wardha	0	0	0	0	0	0	0	0	0	0	0	0	0	0
*	**Nagpur Range**	**0**	**0**	**0**	**0**	**0**	**0**	**0**	**0**	**0**	**0**	**0**	**0**	**0**	**0**
23	Gadchiroli	0	0	0	0	0	0	0	0	0	0	0	0	0	0
24	Gondia	0	0	0	0	0	0	0	0	0	0	0	0	0	0
*	**Gadchiroli Range**	**0**	**0**	**0**	**0**	**0**	**0**	**0**	**0**	**0**	**0**	**0**	**0**	**0**	**0**
25	Ahmednagar	0	0	0	0	0	0	0	0	0	0	0	0	0	0
26	Dhule	0	0	0	0	0	0	0	0	0	0	0	0	0	0
27	Jalgaon	0	0	0	2	0	1	0	0	0	0	0	0	0	0
28	Nasik Rural	0	0	0	0	0	0	0	0	0	0	0	0	0	0
29	Nandurbar	0	0	0	0	0	0	0	0	0	0	0	0	0	0
*	**Nasik Range**	**0**	**0**	**0**	**2**	**0**	**1**	**0**	**0**	**0**	**0**	**0**	**0**	**0**	**0**
30	Raigad	0	0	0	0	0	0	0	0	0	0	0	0	0	0
31	Ratnagiri	0	0	0	0	0	0	0	0	0	0	0	0	0	0
32	Sindhudurg	0	0	0	0	0	0	0	0	0	0	0	0	0	0
33	Thane Rural	0	0	0	0	0	0	0	0	0	0	0	0	0	0
34	Palghar	0	0	0	0	0	0	0	0	0	0	0	0	0	0
*	**Thane Range**	**0**	**0**	**0**	**0**	**0**	**0**	**0**	**0**	**0**	**0**	**0**	**0**	**0**	**0**
35	Mumbai Railway	0	0	0	0	0	0	0	0	0	0	0	0	0	0
36	Pune Railway	0	0	0	0	0	0	0	0	0	0	0	0	0	0
37	Nagpur Railway	0	0	0	0	0	0	0	0	0	0	0	0	0	0
*	**Railways Range**	**0**	**0**	**0**	**0**	**0**	**0**	**0**	**0**	**0**	**0**	**0**	**0**	**0**	**0**
38	Nagpur Commr.	0	0	0	0	0	0	0	0	0	0	0	0	0	0
39	Pune Commr.	0	0	0	0	0	0	0	0	0	0	0	0	0	0
40	Thane Commr.	0	0	0	0	0	0	0	0	0	0	0	0	0	0
41	Mumbai Commr.	0	0	0	0	0	2	0	0	0	0	0	0	0	0
42	Nasik Commr.	0	0	0	0	0	0	0	0	0	0	0	0	0	0
43	Aurangabad Commr.	0	0	0	0	0	0	0	0	0	0	0	0	0	0
44	Solapur Commr.	0	0	0	0	0	0	0	0	0	0	0	0	0	0
45	Navi Mumbai	0	0	0	0	0	0	0	0	0	0	0	0	0	0
46	Amravati Commr.	0	0	0	0	0	0	0	0	0	0	0	0	0	0
*	**Total of Commrs.**	**0**	**0**	**0**	**0**	**0**	**2**	**0**	**0**	**0**	**0**	**0**	**0**	**0**	**0**
**	**Total**	**0**	**0**	**0**	**4**	**0**	**3**	**0**	**0**	**0**	**0**	**0**	**0**	**0**	**0**

TABLE NO. 51 (Continued)

S.No.	Unit	National Security Act, 1980	Unlawful Activities (Prevention) Act, 1967	Young Persons (Harmful Publications) Act, 1956	Railway Property (Unlawful Possession) Act, 1966	Prevention Of Damage To Public Property Act, 1984	Transplantation Of Human Organs Act, 1994	Trade Marks Act, 1999	Prevention Of Insults To National Honour Act, 1971	State Emblem Of India (Prohibition Of Improper Use) Act, 2005	Lotteries (Regulation) Act, 1998	Citizenship Act, 1955	Foreigners Act, 1946	Place Of Worship (Special Provisions) Act, 1991	Religious Institution (Prevention Of Misuse) Act, 1988
1	2	45	46	47	48	49	50	51	52	53	54	55	56	57	58
1	Akola	0	0	0	0	0	0	0	0	0	0	0	0	0	0
2	Amravati Rural	0	0	0	0	0	0	0	0	0	0	0	0	0	0
3	Buldhana	0	0	0	0	0	0	0	0	0	0	0	0	0	0
4	Yavatmal	0	0	0	0	0	0	0	0	0	0	0	0	0	0
5	Washim	0	0	0	0	0	0	0	0	0	0	0	0	0	0
*	**Amaravati Range**	**0**	**0**	**0**	**0**	**0**	**0**	**0**	**0**	**0**	**0**	**0**	**0**	**0**	**0**
6	Aurangabad Rural	0	0	0	0	0	0	0	0	0	0	0	0	0	0
7	Jalna	0	0	0	0	0	0	0	0	0	0	0	0	0	0
8	Beed	0	0	0	0	0	0	0	0	0	0	0	0	0	0
9	Osmanabad	0	0	0	0	0	0	0	0	0	0	0	0	0	0
*	**A'bad Range**	**0**	**0**	**0**	**0**	**0**	**0**	**0**	**0**	**0**	**0**	**0**	**0**	**0**	**0**
10	Nanded	0	0	0	0	0	0	0	0	0	0	0	0	0	0
11	Latur	0	0	0	0	0	0	0	0	0	0	0	0	0	0
12	Parbhani	0	0	0	0	0	0	0	0	0	0	0	0	0	0
13	Hingoli	0	0	0	0	0	0	0	0	0	0	0	0	0	0
*	**Nanded Range**	**0**	**0**	**0**	**0**	**0**	**0**	**0**	**0**	**0**	**0**	**0**	**0**	**0**	**0**
14	Kolhapur	0	0	0	0	0	0	0	0	0	0	0	0	0	0
15	Pune Rural	0	0	0	0	0	0	0	0	0	0	0	0	0	0
16	Sangli	0	0	0	0	0	0	0	0	0	0	0	0	0	0
17	Satara	0	0	0	0	0	0	0	0	0	0	0	0	0	0
18	Solapur Rural	0	0	0	0	0	0	0	0	0	0	0	0	0	0
*	**Kolhapur Range**	**0**	**0**	**0**	**0**	**0**	**0**	**0**	**0**	**0**	**0**	**0**	**0**	**0**	**0**
19	Bhandara	0	0	0	0	0	0	0	0	0	0	0	0	0	0
20	Chandrapur	0	0	0	0	0	0	0	0	0	0	0	0	0	0
21	Nagpur Rural	0	0	0	0	0	0	0	0	0	0	0	0	0	0
22	Wardha	0	0	0	0	0	0	0	0	0	0	0	0	0	0
*	**Nagpur Range**	**0**	**0**	**0**	**0**	**0**	**0**	**0**	**0**	**0**	**0**	**0**	**0**	**0**	**0**
23	Gadchiroli	0	0	0	0	0	0	0	0	0	0	0	0	0	0
24	Gondia	0	0	0	0	0	0	0	0	0	0	0	0	0	0
*	**Gadchiroli Range**	**0**	**0**	**0**	**0**	**0**	**0**	**0**	**0**	**0**	**0**	**0**	**0**	**0**	**0**
25	Ahmednagar	0	0	0	0	0	0	0	0	0	0	0	0	0	0
26	Dhule	0	0	0	0	0	0	0	0	0	0	0	0	0	0
27	Jalgaon	0	0	0	0	0	0	0	0	0	0	0	0	0	0
28	Nasik Rural	0	0	0	0	0	0	0	0	0	0	0	0	0	0
29	Nandurbar	0	0	0	0	0	0	0	0	0	0	0	0	0	0
*	**Nasik Range**	**0**	**0**	**0**	**0**	**0**	**0**	**0**	**0**	**0**	**0**	**0**	**0**	**0**	**0**
30	Raigad	0	0	0	0	0	0	0	0	0	0	0	0	0	0
31	Ratnagiri	0	0	0	0	0	0	0	0	0	0	0	0	0	0
32	Sindhudurg	0	0	0	0	0	0	0	0	0	0	0	0	0	0
33	Thane Rural	0	0	0	0	0	0	0	0	0	0	0	0	0	0
34	Palghar	0	0	0	0	0	0	0	0	0	0	0	0	0	0
*	**Thane Range**	**0**	**0**	**0**	**0**	**0**	**0**	**0**	**0**	**0**	**0**	**0**	**0**	**0**	**0**
35	Mumbai Railway	0	0	0	0	0	0	0	0	0	0	0	0	0	0
36	Pune Railway	0	0	0	0	0	0	0	0	0	0	0	0	0	0
37	Nagpur Railway	0	0	0	0	0	0	0	0	0	0	0	0	0	0
*	**Railways Range**	**0**	**0**	**0**	**0**	**0**	**0**	**0**	**0**	**0**	**0**	**0**	**0**	**0**	**0**
38	Nagpur Commr.	0	0	0	0	0	0	0	0	0	0	0	0	0	0
39	Pune Commr.	0	0	0	0	0	0	0	0	0	0	0	0	0	0
40	Thane Commr.	0	0	0	0	0	0	0	0	0	0	0	0	0	0
41	Mumbai Commr.	0	0	0	0	0	0	0	0	0	0	0	0	0	0
42	Nasik Commr.	0	0	0	0	0	0	0	0	0	0	0	0	0	0
43	Aurangabad Commr.	0	0	0	0	0	0	0	0	0	0	0	0	0	0
44	Solapur Commr.	0	0	0	0	0	0	0	0	0	0	0	0	0	0
45	Navi Mumbai	0	0	0	0	0	0	0	0	0	0	0	0	0	0
46	Amravati Commr.	0	0	0	0	0	0	0	0	0	0	0	0	0	0
*	**Total of Commrs.**	**0**	**0**	**0**	**0**	**0**	**0**	**0**	**0**	**0**	**0**	**0**	**0**	**0**	**0**
**	**Total**	**0**	**0**	**0**	**0**	**0**	**0**	**0**	**0**	**0**	**0**	**0**	**0**	**0**	**0**

TABLE NO. 51 (concluded)

S.No.	Unit	Representation of the People Act, 1951 (As Amended in 2010)	Emigration Act, 1983	Juvenile Justice (Care And Protection Of Children) Act, 2000	Infant Milk Substitutes, Feeding Bottles And Infant Foods (Regulation Of Production, Supply And Distribution) Amendment Act, 2003	Anti Hijacking Act, 1982	Atomic Energy Act, 1962	Weapons Of Mass Destruction And Their Delivery Systems (Prohibition Of Unlawful Activities) Act, 2005	Suppression Of Unlawful Acts Against Safety Of Civil Aviation Act, 1982	Safety of Maritime Navigation Act, 2002	The Employment Of Manual Scavengers And Construction Of Dry Latrines (Prohibition) Act, 1993	Pre-Natal Diagnostic Techniques (Regulation And Prevention Of Misuse) Act, 1994	The Maritime Zones Of India (Regulation Of Fishing By Foreign Vessels) Act, 1981	Other SLL Crimes	Total Cognizable SLL Crimes	% Share of SLL Crimes
1	**2**	**59**	**60**	**61**	**62**	**63**	**64**	**65**	**66**	**67**	**68**	**69**	**70**	**71**	**72**	**73**
1	Akola	0	0	0	0	0	0	0	0	0	0	0	0	2	14	6.64
2	Amravati Rural	0	0	0	0	0	0	0	0	0	0	0	0	0	0	0.00
3	Buldhana	0	0	0	0	0	0	0	0	0	0	0	0	1	2	0.95
4	Yavatmal	0	0	0	0	0	0	0	0	0	0	0	0	0	9	4.27
5	Washim	0	0	0	0	0	0	0	0	0	0	0	0	0	0	0.00
*	**Amaravati Range**	**0**	**0**	**0**	**0**	**0**	**0**	**0**	**0**	**0**	**0**	**0**	**0**	**3**	**25**	11.85
6	Aurangabad Rural	0	0	0	0	0	0	0	0	0	0	0	0	0	1	0.47
7	Jalna	0	0	0	0	0	0	0	0	0	0	0	0	0	7	3.32
8	Beed	0	0	0	0	0	0	0	0	0	0	0	0	0	0	0.00
9	Osmanabad	0	0	0	0	0	0	0	0	0	0	0	0	1	8	3.79
*	**A'bad Range**	**0**	**0**	**0**	**0**	**0**	**0**	**0**	**0**	**0**	**0**	**0**	**0**	**1**	**16**	7.58
10	Nanded	0	0	0	0	0	0	0	0	0	0	0	0	15	20	9.48
11	Latur	0	0	0	0	0	0	0	0	0	0	0	0	0	0	0.00
12	Parbhani	0	0	0	0	0	0	0	0	0	0	0	0	0	2	0.95
13	Hingoli	0	0	0	0	0	0	0	0	0	0	0	0	1	4	1.90
*	**Nanded Range**	**0**	**0**	**0**	**0**	**0**	**0**	**0**	**0**	**0**	**0**	**0**	**0**	**16**	**26**	12.32
14	Kolhapur	0	0	0	0	0	0	0	0	0	0	0	0	1	1	0.47
15	Pune Rural	0	0	0	0	0	0	0	0	0	0	0	0	1	3	1.42
16	Sangli	0	0	0	0	0	0	0	0	0	0	0	0	0	2	0.95
17	Satara	0	0	0	0	0	0	0	0	0	0	0	0	0	5	2.37
18	Solapur Rural	0	0	0	0	0	0	0	0	0	0	0	0	0	1	0.47
*	**Kolhapur Range**	**0**	**0**	**0**	**0**	**0**	**0**	**0**	**0**	**0**	**0**	**0**	**0**	**2**	**12**	5.69
19	Bhandara	0	0	0	0	0	0	0	0	0	0	0	0	0	2	0.95
20	Chandrapur	0	0	0	0	0	0	0	0	0	0	0	0	0	15	7.11
21	Nagpur Rural	0	0	0	0	0	0	0	0	0	0	0	0	0	1	0.47
22	Wardha	0	0	0	0	0	0	0	0	0	0	0	0	0	0	0.00
*	**Nagpur Range**	**0**	**0**	**0**	**0**	**0**	**0**	**0**	**0**	**0**	**0**	**0**	**0**	**0**	**18**	8.53
23	Gadchiroli	0	0	0	0	0	0	0	0	0	0	0	0	0	0	0.00
24	Gondia	0	0	0	0	0	0	0	0	0	0	0	0	0	0	0.00
*	**Gadchiroli Range**	**0**	**0**	**0**	**0**	**0**	**0**	**0**	**0**	**0**	**0**	**0**	**0**	**0**	**0**	0.00
25	Ahmednagar	0	0	0	0	0	0	0	0	0	0	0	0	0	0	0.00
26	Dhule	0	0	0	0	0	0	0	0	0	0	0	0	0	1	0.47
27	Jalgaon	0	0	0	0	0	0	0	0	0	0	0	0	4	7	3.32
28	Nasik Rural	0	0	0	0	0	0	0	0	0	0	0	0	1	1	0.47
29	Nandurbar	0	0	0	0	0	0	0	0	0	0	0	0	0	0	0.00
*	**Nasik Range**	**0**	**0**	**0**	**0**	**0**	**0**	**0**	**0**	**0**	**0**	**0**	**0**	**5**	**9**	4.27
30	Raigad	0	0	0	0	0	0	0	0	0	0	0	0	0	0	0.00
31	Ratnagiri	0	0	0	0	0	0	0	0	0	0	0	0	0	2	0.95
32	Sindhudurg	0	0	0	0	0	0	0	0	0	0	0	0	0	1	0.47
33	Thane Rural	0	0	0	0	0	0	0	0	0	0	0	0	0	0	0.00
34	Palghar	0	0	0	0	0	0	0	0	0	0	0	0	0	0	0.00
*	**Thane Range**	**0**	**0**	**0**	**0**	**0**	**0**	**0**	**0**	**0**	**0**	**0**	**0**	**0**	**3**	1.42
35	Mumbai Railway	0	0	0	0	0	0	0	0	0	0	0	0	2	2	0.95
36	Pune Railway	0	0	0	0	0	0	0	0	0	0	0	0	0	0	0.00
37	Nagpur Railway	0	0	0	0	0	0	0	0	0	0	0	0	0	0	0.00
*	**Railways Range**	**0**	**0**	**0**	**0**	**0**	**0**	**0**	**0**	**0**	**0**	**0**	**0**	**2**	**2**	0.95
38	Nagpur Commr.	0	0	0	0	0	0	0	0	0	0	0	0	5	9	4.27
39	Pune Commr.	0	0	0	0	0	0	*	0	0	0	0	0	9	11	5.21
40	Thane Commr.	0	0	0	0	0	0	0	0	0	0	0	0	3	4	1.90
41	Mumbai Commr.	0	0	6	0	0	0	0	0	0	0	0	0	23	65	30.81
42	Nasik Commr.	0	0	0	0	0	0	0	0	0	0	0	0	4	7	3.32
43	Aurangabad Commr.	0	0	0	0	0	0	0	0	0	0	0	0	0	0	0.00
44	Solapur Commr.	0	0	0	0	0	0	0	0	0	0	0	0	0	0	0.00
45	Navi Mumbai	0	0	0	0	0	0	0	0	0	0	0	0	1	1	0.47
46	Amravati Commr.	0	0	0	0	0	0	0	0	0	0	0	0	3	3	1.42
*	Total of Commrs.	0	0	6	0	0	0	0	0	0	0	0	0	48	100	47.39
**	**Total**	**0**	**0**	**6**	**0**	**0**	**0**	**0**	**0**	**0**	**0**	**0**	**0**	**77**	**211**	100.00

तक्ता क्र.५२

सन २००५ ते २०१५ मध्ये भा.दं.वि. व विशेष व स्थानिक कायद्याखालील ताब्यात

घेतलेले विधीसंघर्षग्रस्त बाल (लिंग-निहाय)

Table No. 52

Juvenile In Conflict With Law Apprehended Under IPC & SLL (Sexwise) During 2005-2015

SR. NO.	YEAR	BOYS	GIRLS	TOTAL	PERCENTAGE OF GIRLS
1	2	3	4	5	6
1	2005	5873	430	6303	6.8
2	2006	6296	361	6657	5.4
3	2007	6442	394	6836	5.8
4	2008	6671	348	7019	5.0
5	2009	6618	354	6972	5.1
6	2010	6061	327	6388	5.1
7	2011	6394	376	6770	5.6
8	2012	6320	310	6630	4.7
9	2013	7673	339	8012	4.2
10	2014	7025	203	7228	2.8
11	2015	7153	217	7370	2.9

तक्ता क्र. ५३

सन २००५ ते २०१५ मधील भा.दं.वि. व विशेष व स्थानिक कायद्याखालील ताब्यात घेतलेले विधीसंघर्षग्रस्त बाल (वयोगटानुसार)

Table No. 53

Juvenile In Conflict With Law Apprehended Under IPC & SLL

Crime According To Age Group During 2005-2015

SR. NO.	YEAR	BELOW 12 YEARS	PERCENTAGE TO TOTAL	12 YRS & ABOVE – BELOW 16 YEARS	PERCENTAGE TO TOTAL	16 YRS & ABOVE – BELOW 18 YEARS	PERCENTAGE TO TOTAL	OVER ALL GROUP
1	2	3	4	5	6	7	8	9
1	2005	269	4.3	2569	40.8	3465	55.0	6303
2	2006	275	4.1	2647	39.8	3735	56.1	6657
3	2007	249	3.6	2319	33.9	4268	62.4	6836
4	2008	258	3.7	2390	34.1	4371	62.3	7019
5	2009	217	3.1	2079	29.8	4676	67.1	6972
6	2010	173	2.7	1871	29.3	4344	68.0	6388
7	2011	204	3.0	1780	26.3	4786	70.7	6770
8	2012	143	2.2	1905	28.7	4582	69.1	6630
9	2013	171	2.1	2247	28.0	5594	69.8	8012
10	2014	149	2.1	1951	27.0	5128	70.9	7228
11	2015	123	1.7	1981	26.9	5266	71.5	7370
PERCENTAGE CHANGE IN 2015 AS COMPARED TO 2005		-54.3		-22.9		52.0		16.9
PERCENTAGE CHANGE IN 2015 AS COMPARED TO 2014		-17.4		1.5		2.7		2.0

तक्ता क्र. ५४

सन २०१५ मध्ये भा.दं.वि. आणि विशेष व स्थानिक कायदयाखालील ताब्यात घेतलेल्या विधीसंघर्षग्रस्त बाल यांची वय व लिंगानुसार माहिती

TABLE NO. 54

Juvenile In Conflict With Law Apprehended Under IPC And SLL Offences As Per Age Group And Sex During 2015

S. No.	Crime Head	Below 12 Years			12 Years & Above – Below 16 Years		
		Boys	Girls	Total	Boys	Girls	Total
1	2	3	4	5	6	7	8
1	Murder	1	0	1	43	4	47
2	Attempt to commit Murder	1	0	1	52	0	52
3	Culpable Homicide not amounting to Murder	0	0	0	1	0	1
4	Attempt to commit Culpable Homicide	0	0	0	0	0	0
5	Rape	0	0	0	66	1	67
5.1	Custodial Rape	0	0	0	0	0	0
5.1.1	Gang Rape	0	0	0	4	0	4
5.1.2	Other Rape	0	0	0	62	1	63
5.2	Rape other than Custodial	0	0	0	66	1	67
5.2.1	Gang Rape	0	0	0	4	0	4
5.2.2	Other Rape	0	0	0	62	1	63
6	Attempt to commit Rape	0	0	0	0	0	0
7	Kidnapping & Abduction Total	1	0	1	25	1	26
7.1	Kidnapping & Abduction	1	0	1	18	1	19
7.2	Kidnaping & Abduction in order to Murder	0	0	0	0	0	0
7.3	Kidnapping for Ransom	0	0	0	0	0	0
7.4	Kidnapping & Abduction of Women to compel her for marriage	0	0	0	6	0	6
7.5	Other Kidnapping	0	0	0	1	0	1
8	Dacoity	0	0	0	19	0	19
8.1	Dacoity with Murder	0	0	0	0	0	0
8.2	Other Dacoity	0	0	0	19	0	19
9	Making Preparation and Assembly for committing Dacoity	0	0	0	3	0	3
10	Robbery	13	0	13	87	0	87
11	Criminal Trespass/Burglary Total	15	0	15	240	0	240
11.1	Criminal Trespass/Burglary	10	0	10	181	0	181
11.2	House Trespass & House Breaking	5	0	5	59	0	59
12	Theft	49	1	50	615	30	645
12.1	Auto Theft	10	0	10	211	0	211
12.2	Other Thefts	39	1	40	404	30	434
13	Unlawful Assembly	1	0	1	9	1	10
14	Riots	11	0	11	163	10	173
14.1	Communal	0	0	0	0	0	0
14.2	Industrial	0	0	0	0	0	0
14.3	Political	0	0	0	1	0	1
14.4	Caste Conflict	0	0	0	1	0	1
14.4.1	SC/STs Vs. Non-SCs/STs	0	0	0	1	0	1
14.4.2	Other Caste Riots	0	0	0	0	0	0
14.5	Agrarian	0	0	0	0	0	0
14.6	Students	0	0	0	0	0	0
14.7	Sectarian	0	0	0	0	0	0
14.8	Other Riots	11	0	11	161	10	171
15	Criminal Breach of Trust	0	0	0	0	0	0
16	Cheating	0	0	0	7	1	8
17	Forgery	0	0	0	0	0	0
18	Counterfeiting	0	0	0	0	0	0
18.1	Offences related to Counterfeit Coin	0	0	0	0	0	0
18.2	Counterfeiting Government Stamp	0	0	0	0	0	0
18.3	Counterfeit currency & Bank notes	0	0	0	0	0	0
18.3.1	Counterfeiting currency notes or Bank notes	0	0	0	0	0	0
18.3.2	Using forged or counterfeit currency/Bank notes	0	0	0	0	0	0
18.3.3	Possession of forged or counterfeiting currency / Bank notes	0	0	0	0	0	0
18.3.4	Make/Possess materials for forging or counterfeiting currency/Bank	0	0	0	0	0	0
18.3.5	Make/Use documents resembling currency notes/Bank notes	0	0	0	0	0	0
19	Arson	0	1	1	1	0	1
20	Grievous Hurt	3	0	3	113	8	121
20.1	Grievous Hurt	3	0	3	113	8	121
20.2	Acid attack	0	0	0	0	0	0
20.3	Attempt to Acid Attack	0	0	0	0	0	0
21	Dowry Deaths	0	0	0	0	2	2
22	Assault on women with intent to outrage her Modesty	1	1	2	86	1	87
22.1	Sexual Harassment	1	0	1	51	0	51
22.2	Assault on women with intent to Disrobe	0	1	1	3	0	3
22.3	Voyeurism	0	0	0	0	0	0
22.4	Stalking	0	0	0	9	0	9
22.5	Others	0	0	0	23	1	24
23	Insult to the Modesty of Women	0	0	0	4	0	4
23.1	At Office premises	0	0	0	0	0	0
23.2	Places related to work other than Office	0	0	0	0	0	0
23.3	In Public Transport system	0	0	0	0	0	0
23.4	in Other Places	0	0	0	4	0	4
24	Cruelty by Husband or his Relatives	0	0	0	1	0	1
25	Importation of Girls from Foreign Country	0	0	0	0	0	0
26	Causing Death by Negligence	0	0	0	10	1	11
26.1	Deaths due to negligent driving/act	0	0	0	10	0	10
26.2	Deaths due to Other Causes	0	0	0	0	1	1
27	Offences against State	0	0	0	0	0	0
27.1	Sedition	0	0	0	0	0	0
27.2	Other offences against State	0	0	0	0	0	0
28	Offences promoting enmity between different groups	0	0	0	0	0	0
28.1	Promoting enmity on ground of religion race and place of Birth	0	0	0	0	0	0
28.2	Imputation & assertions prejudicial to national integration	0	0	0	0	0	0
29	Extortion	0	0	0	6	0	6
30	Disclosure of Identity of Victims	0	0	0	0	0	0
31	Incidence of Rash Driving	0	2	2	22	1	23
32	Human Trafficking	0	0	0	0	0	0
33	Unnatural Offences	1	0	1	26	0	26
34	**Other IPC crimes**	**14**	**2**	**16**	**269**	**20**	**289**
	Total Cognizable IPC crimes	**111**	**7**	**118**	**1868**	**81**	**1949**

तक्ता क्र. ५४ (चालू)

TABLE NO. 54 (Continued)

Sr. No.	Crime Head	16 yrs & Above – Below 18 years			Overall age group		Grand Total (Boys+Girls)
		Boys	Girls	Total	Boys	Girls	
1	2	9	10	11	12	13	14
1	Murder	137	1	138	181	5	186
2	Attempt to commit Murder	209	7	216	262	7	269
3	Culpable Homicide not amounting to Murder	3	0	3	4	0	4
4	Attempt to commit Culpable Homicide	0	0	0	0	0	0
5	Rape	199	1	200	265	2	267
5.1	Custodial Rape	0	0	0	0	0	0
5.1.1	Gang Rape	0	0	0	0	0	0
5.1.2	Other Rape	0	0	0	0	0	0
5.2	Rape other than Custodial	199	1	200	265	2	267
5.2.1	Gang Rape	14	0	14	18	0	18
5.2.2	Other Rape	185	1	186	247	2	249
6	Attempt to commit Rape	1	0	1	1	0	1
7	Kidnapping & Abduction Total	131	3	134	157	4	161
7.1	Kidnapping & Abduction	71	0	71	90	1	91
7.2	Kidnaping & Abduction in order to Murder	0	0	0	0	0	0
7.3	Kidnapping for Ransom	3	0	3	3	0	3
7.4	Kidnapping & Abduction of Women to compel her for marriage	42	3	45	48	3	51
7.5	Other Kidnapping	15	0	15	16	0	16
8	Dacoity	78	0	78	97	0	97
8.1	Dacoity with Murder	0	0	0	0	0	0
8.2	Other Dacoity	78	0	78	97	0	97
9	Making Preparation and Assembly for committing Dacoity	15	0	15	18	0	18
10	Robbery	361	0	361	461	0	461
11	Criminal Trespass/Burglary Total	461	3	464	716	3	719
11.1	Criminal Trespass/Burglary	362	2	364	553	2	555
11.2	House Trespass & House Breaking	99	1	100	163	1	164
12	Theft	1023	17	1040	1687	48	1735
12.1	Auto Theft	360	0	360	581	0	581
12.2	Other Thefts	663	17	680	1106	48	1154
13	Unlawful Assembly	46	0	46	56	1	57
14	Riots	444	26	470	618	36	654
14.1	Communal	7	0	7	7	0	7
14.2	Industrial	0	0	0	0	0	0
14.3	Political	5	0	5	6	0	6
14.4	Caste Conflict	6	0	6	7	0	7
14.4.1	SC/STs Vs. Non-SCs/STs	5	0	5	6	0	6
14.4.2	Other Caste Riots	1	0	1	1	0	1
14.5	Agrarian	0	1	1	0	1	1
14.6	Students	0	0	0	0	0	0
14.7	Sectarian	0	0	0	0	0	0
14.8	Other Riots	426	25	451	598	35	633
15	Criminal Breach of Trust	4	0	4	4	0	4
16	Cheating	9	0	9	16	1	17
17	Forgery	0	0	0	0	0	0
18	Counterfeiting	1	0	1	1	0	1
18.1	Offences related to Counterfeit Coin	0	0	0	0	0	0
18.2	Counterfeiting Government Stamp	0	0	0	0	0	0
18.3	Counterfeit currency & Bank notes	1	0	1	1	0	1
18.3.1	Counterfeiting currency notes or Bank notes	0	0	0	0	0	0
18.3.2	Using forged or counterfeit currency/Bank notes	1	0	1	1	0	1
18.3.3	Possession of forged or counterfeiting currency / Bank notes	0	0	0	0	0	0
18.3.4	Make/Possess materials for forging or counterfeiting currency/Bank	0	0	0	0	0	0
18.3.5	Make/Use documents resembling currency notes/Bank notes	0	0	0	0	0	0
19	Arson	13	0	13	14	1	15
20	Grievous Hurt	300	4	304	416	12	428
20.1	Grievous Hurt	300	4	304	416	12	428
20.2	Acid attack	0	0	0	0	0	0
20.3	Attempt to Acid Attack	0	0	0	0	0	0
21	Dowry Deaths	3	1	4	3	3	6
22	Assault on women with intent to outrage her Modesty	296	0	296	383	2	385
22.1	Sexual Harassment	117	0	117	169	0	169
22.2	Assault on women with intent to Disrobe	17	0	17	20	1	21
22.3	Voyeurism	7	0	7	7	0	7
22.4	Stalking	48	0	48	57	0	57
22.5	Others	107	0	107	130	1	131
23	Insult to the Modesty of Women	14	0	14	18	0	18
23.1	At Office premises	0	0	0	0	0	0
23.2	Places related to work other than Office	1	0	1	1	0	1
23.3	In Public Transport system	1	0	1	1	0	1
23.4	in Other Places	12	0	12	16	0	16
24	Cruelty by Husband or his Relatives	17	2	19	18	2	20
25	Importation of Girls from Foreign Country	0	0	0	0	0	0
26	Causing Death by Negligence	80	2	82	90	3	93
26.1	Deaths due to negligent driving/act	71	2	73	81	2	83
26.2	Deaths due to Other Causes	9	0	9	9	1	10
27	Offences against State	0	0	0	0	0	0
27.1	Sedition	0	0	0	0	0	0
27.2	Other offences against State	0	0	0	0	0	0
28	Offences promoting enmity between different groups	0	0	0	0	0	0
28.1	Promoting enmity on ground of religion race and place of Birth	0	0	0	0	0	0
28.2	Imputation & assertions prejudicial to national integration	0	0	0	0	0	0
29	Extortion	15	0	15	21	0	21
30	Disclosure of Identity of Victims	0	0	0	0	0	0
31	Incidence of Rash Driving	171	3	174	193	6	199
32	Human Trafficking	0	0	0	0	0	0
33	Unnatural Offences	15	0	15	42	0	42
34	Other IPC crimes	885	55	940	1168	77	1245
	Total Cognizable IPC crimes	**4931**	**125**	**5056**	**6910**	**213**	**7123**

तक्ता क्र. ५४ (चालू)

TABLE NO. 54 (Continued)

Sr. No.	Crime Head	Below 12 Years			12 yrs & Above – Below 16 years		
		Boys	Girls	Total	Boys	Girls	Total
1	2	3	4	5	6	7	8
1	Arms Act, 1959	0	0	**0**	2	0	**2**
2	Narcotic Drugs & Psychotropic Substances Act, 1985	1	0	**1**	3	0	**3**
3	Gambling Act, 1867	0	0	**0**	0	0	**0**
4	Excise Act, 1944	0	0	**0**	0	0	**0**
5	Prohibition Act	0	0	**0**	2	0	**2**
6	Explosives and Explosive Substances Act	0	0	**0**	0	0	**0**
7	Immoral Traffic (Prevention) Act, 1956	0	0	**0**	0	0	**0**
7.1	Under Section 5	0	0	**0**	0	0	**0**
7.2	Under Section 6	0	0	**0**	0	0	**0**
7.3	Under Section 7	0	0	**0**	0	0	**0**
7.4	Under Section 8	0	0	**0**	0	0	**0**
7.5	Other Sections under ITP Act	0	0	**0**	0	0	**0**
8	Indian Railways Act, 1989	0	0	**0**	0	0	**0**
9	Registration of Foreigners Act, 1939	0	0	**0**	0	0	**0**
10	Protection of Civil Rights Act, 1955	0	0	**0**	0	0	**0**
10.1	PCR Act for crimes committed against SCs	0	0	**0**	0	0	**0**
10.2	PCR Act for crimes committed against STs	0	0	**0**	0	0	**0**
10.3	PCR Act for crimes committed against Others	0	0	**0**	0	0	**0**
11	Passport Act, 1967	0	0	**0**	1	0	**1**
12	Essential Commodities Act, 1955	0	0	**0**	1	0	**1**
13	Antiquities & Art Treasures Act, 1972	0	0	**0**	0	0	**0**
14	Dowry Prohibition Act, 1961	0	0	**0**	0	0	**0**
15	Indecent Representation of Women (Prohibition) Act, 1986	0	0	**0**	0	0	**0**
16	Copyright Act, 1957	0	0	**0**	0	0	**0**
17	Protection of Children from Sexual Offences Act	0	0	**0**	0	0	**0**
18	SC/ST (Prevention of Atrocities) Act, 1989)	0	0	**0**	0	1	**1**
18.1	POA Act for crimes committed against SCs	0	0	**0**	0	1	**1**
18.2	POA Act for crimes committed against STs	0	0	**0**	0	0	**0**
19	Forest Act, 1927	0	0	**0**	0	0	**0**
20	Prohibition of Child Marriage Act, 2006	0	0	**0**	0	0	**0**
21	Protection of Women from Domestic Violence Act, 2005	0	0	**0**	0	0	**0**
22	Information Technology Act, 2000	0	0	**0**	0	0	**0**
23	Official Secrets Act, 1923	0	0	**0**	0	0	**0**
24	Electricity Act, 2003	0	0	**0**	0	0	**0**
25	Wildlife Protection Act, 1972	0	0	**0**	0	0	**0**
26	Bonded Labour System (Abolition) Act, 1976	0	0	**0**	0	0	**0**
26.1	Against SCs	0	0	**0**	0	0	**0**
26.2	Against STs	0	0	**0**	0	0	**0**
26.3	Against others	0	0	**0**	0	0	**0**
27	Environmental (Protection) Act, 1986	0	0	**0**	0	0	**0**
28	Air (Prevention & Control of Pollution) Act, 1981	0	0	**0**	0	0	**0**
29	Water (Prevention & Control of Pollution) Act, 1974(as amended in 1988)	0	0	**0**	0	0	**0**
30	National Security Act, 1980	0	0	**0**	0	0	**0**
31	Unlawful Activities (Prevention) Act, 1967	0	0	**0**	0	0	**0**
32	Young Persons (Harmful Publications) Act, 1956	0	0	**0**	0	0	**0**
33	Railway Property (Unlawful Possession) Act, 1966	0	0	**0**	0	0	**0**
34	Prevention of Damage to Public Property Act, 1984	0	0	**0**	0	0	**0**
35	Transplantation of Human Organs Act, 1994	0	0	**0**	0	0	**0**
36	Trade Marks Act, 1999	0	0	**0**	0	0	**0**
37	Prevention of Insults to National Honour Act, 1971	0	0	**0**	0	0	**0**
38	State Emblem (Prohibition of Improper Use) Act, 2005	0	0	**0**	0	0	**0**
39	Lotteries (Regulation) Act, 1998	0	0	**0**	0	0	**0**
40	Citizenship Act, 1955	0	0	**0**	0	0	**0**
41	Foreigners Act, 1946	0	0	**0**	0	0	**0**
42	Place of Worship (Special Provisions) Act, 1991	0	0	**0**	0	0	**0**
43	Religious Institution (Prevention of Misuse) Act, 1988	0	0	**0**	0	0	**0**
44	Representation of People Act, 1951	0	0	**0**	0	0	**0**
45	Emigration Act, 1983	0	0	**0**	0	0	**0**
46	Juvenile Justice (Care and Protection of Children) Act, 2000	1	0	**1**	5	0	**5**
47	Infant Substitutes Regulation Act, 2003	0	0	**0**	0	0	**0**
48	Anti-Hijacking Act, 1982	0	0	**0**	0	0	**0**
49	Atomic Energy Act, 1962	0	0	**0**	0	0	**0**
50	Weapons of Mass Destruction (Proh. of Unlawful Activities) Act, 2005	0	0	**0**	0	0	**0**
51	Suppression of Unlawful Acts against Safety of Civil Aviation Act, 1982	0	0	**0**	0	0	**0**
52	Safety of Maritime Navigation Act, 2002	0	0	**0**	0	0	**0**
53	Manual Scavengers and Construction of Dry Latrines (P) Act, 1993	0	0	**0**	0	0	**0**
54	Pre-Natal Diagnostic Techniques (Reg and Prev of Misuse) Act, 1994	0	0	**0**	0	0	**0**
55	The Maritime Zones of India (Reg of Fishing by Foreign Vessels) Act, 1981	0	0	**0**	0	0	**0**
56	Other SLL crimes	3	0	**3**	17	0	**17**
	Total Cognizable SLL Crimes	**5**	**0**	**5**	**31**	**1**	**32**

तक्ता क्र. ५४ (पूर्ण)

Table No. 54 (Concluded)

Sr.No.	Crime Head	16 yrs & Above – Below 18 years			Overall age group		Grand Total (Boys+Girls)
		Boys	Girls	Total	Boys	Girls	
1	2	9	10	11	12	13	14
1	Arms Act, 1959	14	0	**14**	16	0	**16**
2	Narcotic Drugs & Psychotropic Substances Act, 1985	26	1	**27**	30	1	**31**
3	Gambling Act, 1867	31	0	**31**	31	0	**31**
4	Excise Act, 1944	0	0	**0**	0	0	**0**
5	Prohibition Act	39	0	**39**	41	0	**41**
6	Explosives and Explosive Substances Act	1	0	**1**	1	0	**1**
7	Immoral Traffic (Prevention) Act, 1956	0	1	**1**	0	1	**1**
7.1	Under Section 5	0	0	**0**	0	0	**0**
7.2	Under Section 6	0	0	**0**	0	0	**0**
7.3	Under Section 7	0	0	**0**	0	0	**0**
7.4	Under Section 8	0	0	**0**	0	0	**0**
7.5	Other Sections under ITP Act	0	1	**1**	0	1	**1**
8	Indian Railways Act, 1989	2	0	**2**	2	0	**2**
9	Registration of Foreigners Act, 1939	0	0	**0**	0	0	**0**
10	Protection of Civil Rights Act, 1955	0	0	**0**	0	0	**0**
10.1	PCR Act for crimes committed against SCs	0	0	**0**	0	0	**0**
10.2	PCR Act for crimes committed against STs	0	0	**0**	0	0	**0**
10.3	PCR Act for crimes committed against Others	0	0	**0**	0	0	**0**
11	Passport Act, 1967	0	0	**0**	1	0	**1**
12	Essential Commodities Act, 1955	1	0	**1**	2	0	**2**
13	Antiquities & Art Treasures Act, 1972	0	0	**0**	0	0	**0**
14	Dowry Prohibition Act, 1961	0	0	**0**	0	0	**0**
15	Indecent Representation of Women (Prohibition) Act, 1986	0	0	**0**	0	0	**0**
16	Copyright Act, 1957	4	0	**4**	4	0	**4**
17	Commission of Sati Prevention Act 1987	1	0	**1**	1	0	**1**
18	SC/ST (Prevention of Atrocities) Act, 1989)	5	1	**6**	5	2	**7**
18.1	POA Act for crimes committed against SCs	5	1	**6**	5	2	**7**
18.2	POA Act for crimes committed against STs	0	0	**0**	0	0	**0**
19	Forest Act, 1927	0	0	**0**	0	0	**0**
20	Prohibition of Child Marriage Act, 2006	0	0	**0**	0	0	**0**
21	Protection of Women from Domestic Violence Act, 2005	0	0	**0**	0	0	**0**
22	Information Technology Act, 2000	7	0	**7**	7	0	**7**
23	Official Secrets Act, 1923	0	0	**0**	0	0	**0**
24	Electricity Act, 2003	3	0	**3**	3	0	**3**
25	Wildlife Protection Act, 1972	0	0	**0**	0	0	**0**
26	Bonded Labour System (Abolition) Act, 1976	0	0	**0**	0	0	**0**
26.1	Against SCs	0	0	**0**	0	0	**0**
26.2	Against STs	0	0	**0**	0	0	**0**
26.3	Against others	0	0	**0**	0	0	**0**
27	Environmental (Protection) Act, 1986	0	0	**0**	0	0	**0**
28	Air (Prevention & Control of Pollution) Act, 1981	0	0	**0**	0	0	**0**
29	Water (Prevention & Control of Pollution) Act, 1974(as amended in 1988)	0	0	**0**	0	0	**0**
30	National Security Act, 1980	0	0	**0**	0	0	**0**
31	Unlawful Activities (Prevention) Act, 1967	0	0	**0**	0	0	**0**
32	Young Persons (Harmful Publications) Act, 1956	0	0	**0**	0	0	**0**
33	Railway Property (Unlawful Possession) Act, 1966	0	0	**0**	0	0	**0**
34	Prevention of Damage to Public Property Act, 1984	0	0	**0**	0	0	**0**
35	Transplantation of Human Organs Act, 1994	0	0	**0**	0	0	**0**
36	Trade Marks Act, 1999	0	0	**0**	0	0	**0**
37	Prevention of Insults to National Honour Act, 1971	0	0	**0**	0	0	**0**
38	State Emblem (Prohibition of Improper Use) Act, 2005	0	0	**0**	0	0	**0**
39	Lotteries (Regulation) Act, 1998	0	0	**0**	0	0	**0**
40	Citizenship Act, 1955	0	0	**0**	0	0	**0**
41	Foreigners Act, 1946	0	0	**0**	0	0	**0**
42	Place of Worship (Special Provisions) Act, 1991	0	0	**0**	0	0	**0**
43	Religious Institution (Prevention of Misuse) Act, 1988	0	0	**0**	0	0	**0**
44	Representation of People Act, 1951	0	0	**0**	0	0	**0**
45	Emigration Act, 1983	0	0	**0**	0	0	**0**
46	Juvenile Justice (Care and Protection of Children) Act, 2000	0	0	**0**	6	0	**6**
47	Infant Substitutes Regulation Act, 2003	0	0	**0**	0	0	**0**
48	Anti-Hijacking Act, 1982	0	0	**0**	0	0	**0**
49	Atomic Energy Act, 1962	0	0	**0**	0	0	**0**
50	Weapons of Mass Destruction (Proh. of Unlawful Activities) Act, 2005	0	0	**0**	0	0	**0**
51	Suppression of Unlawful Acts against Safety of Civil Aviation Act, 1982	0	0	**0**	0	0	**0**
52	Safety of Maritime Navigation Act, 2002	0	0	**0**	0	0	**0**
53	Manual Scavengers and Construction of Dry Latrines (P) Act, 1993	0	0	**0**	0	0	**0**
54	Pre-Natal Diagnostic Techniques (Reg and Prev of Misuse) Act, 1994	0	0	**0**	0	0	**0**
55	The Maritime Zones of India (Reg of Fishing by Foreign Vessels) Act, 1981	0	0	**0**	0	0	**0**
56	**Other SLL crimes**	73	0	**73**	93	0	**93**
	Total Cognizable SLL crimes	**207**	**3**	**210**	**243**	**4**	**247**
	Total (IPC+SLL)	**419**	**8**	**427**	**491**	**11**	**502**

तक्ता क्र. ५५

सन २०१५ मधील भा.दं.वि. खालील विविध शीर्ष व घटक-निहाय ताब्यात घेतलेले विधीसंघर्षग्रस्त बाल

TABLE NO. 55

Juvenile In Conflict With Law Apprehended Under Different IPC Offences-2015

Sr. No.	Unit	Murder (Section 302 IPC)	Attempt To Commit Murder (Section 307 IPC)	Culpable Homicide Not Amounting To Murder (Section 304 IPC)	Attempt To Commit Culpable Homicide (Section 308 IPC)
1	2	3	4	5	6
1	Akola	5	2	0	0
2	Amravati Rural	0	0	0	0
3	Buldhana	3	1	0	0
4	Yavatmal	3	1	0	0
5	Washim	0	6	0	0
*	**Amaravati Range**	**11**	**10**	**0**	**0**
6	Aurangabad Rural	3	6	0	0
7	Jalna	3	2	0	0
8	Beed	7	5	0	0
9	Osmanabad	1	6	0	0
*	**A'bad Range**	**14**	**19**	**0**	**0**
10	Nanded	3	9	0	0
11	Latur	9	0	0	0
12	Parbhani	2	6	0	0
13	Hingoli	1	3	0	0
*	**Nanded Range**	**15**	**18**	**0**	**0**
14	Kolhapur	6	5	0	0
15	Pune Rural	7	14	0	0
16	Sangli	6	7	0	0
17	Satara	3	23	0	0
18	Solapur Rural	0	2	0	0
*	**Kolhapur Range**	**22**	**51**	**0**	**0**
19	Bhandara	2	1	0	0
20	Chandrapur	0	0	0	0
21	Nagpur Rural	1	2	0	0
22	Wardha	1	1	0	0
*	**Nagpur Range**	**4**	**4**	**0**	**0**
23	Gadchiroli	1	0	1	0
24	Gondia	1	6	0	0
*	**Gadchiroli Range**	**2**	**6**	**1**	**0**
25	Ahmednagar	5	1	0	0
26	Dhule	1	0	1	0
27	Jalgaon	3	6	0	0
28	Nasik Rural	1	3	0	0
29	Nandurbar	1	3	0	0
*	**Nasik Range**	**11**	**13**	**1**	**0**
30	Raigad	3	0	0	0
31	Ratnagiri	1	1	0	0
32	Sindhudurg	0	0	0	0
33	Thane Rural	6	2	2	0
34	Palghar	5	1	0	0
*	**Thane Range**	**15**	**4**	**2**	**0**
35	Mumbai Railway	1	0	0	0
36	Pune Railway	1	0	0	0
37	Nagpur Railway	0	1	0	0
*	**Railways Range**	**2**	**1**	**0**	**0**
38	Nagpur Commr.	10	16	0	0
39	Pune Commr.	30	66	0	0
40	Thane Commr.	17	26	0	0
41	Mumbai Commr.	28	22	0	0
42	Nasik Commr.	1	4	0	0
43	Aurangabad Commr.	2	5	0	0
44	Solapur Commr.	1	0	0	0
45	Navi Mumbai	1	4	0	0
46	Amravati Commr.	0	0	0	0
*	**Total of Commrs.**	**90**	**143**	**0**	**0**
**	**Total**	**186**	**269**	**4**	**0**

तक्ता क्र. ५५ (चालू)

TABLE NO. 55 (Continued)

Sr. No.	Unit	Rape (Section 376 IPC) (Total)				Rape		
		Rape (Section 376 IPC)(Total)	Custodial Rape			Other than Custodial Rape		
			Custodial Rape*	Gang Rape	Other Rape	Rape Other Than Custodial (Total)	Gang Rape	Other Rape
1	2	7	8	9	10	11	12	13
1	Akola	6	0	0	0	6	0	6
2	Amravati Rural	13	0	0	0	13	5	8
3	Buldhana	1	0	0	0	1	0	1
4	Yavatmal	2	0	0	0	2	0	2
5	Washim	3	0	0	0	3	2	1
*	**Amaravati Range**	**25**	**0**	**0**	**0**	**25**	**7**	**18**
6	Aurangabad Rural	0	0	0	0	0	0	0
7	Jalna	2	0	0	0	2	0	2
8	Beed	4	0	0	0	4	0	4
9	Osmanabad	8	0	0	0	8	0	8
*	**A'bad Range**	**14**	**0**	**0**	**0**	**14**	**0**	**14**
10	Nanded	5	0	0	0	5	0	5
11	Latur	3	0	0	0	3	0	3
12	Parbhani	3	0	0	0	3	0	3
13	Hingoli	2	0	0	0	2	0	2
*	**Nanded Range**	**13**	**0**	**0**	**0**	**13**	**0**	**13**
14	Kolhapur	10	0	0	0	10	0	10
15	Pune Rural	5	0	0	0	5	0	5
16	Sangli	9	0	0	0	9	0	9
17	Satara	11	0	0	0	11	1	10
18	Solapur Rural	7	0	0	0	7	0	7
*	**Kolhapur Range**	**42**	**0**	**0**	**0**	**42**	**1**	**41**
19	Bhandara	2	0	0	0	2	0	2
20	Chandrapur	6	0	0	0	6	0	6
21	Nagpur Rural	5	0	0	0	5	0	5
22	Wardha	4	0	0	0	4	0	4
*	**Nagpur Range**	**17**	**0**	**0**	**0**	**17**	**0**	**17**
23	Gadchiroli	1	0	0	0	1	0	1
24	Gondia	8	0	0	0	8	0	8
*	**Gadchiroli Range**	**9**	**0**	**0**	**0**	**9**	**0**	**9**
25	Ahmednagar	0	0	0	0	0	0	0
26	Dhule	0	0	0	0	0	0	0
27	Jalgaon	4	0	0	0	4	0	4
28	Nasik Rural	7	0	0	0	7	2	5
29	Nandurbar	7	0	0	0	7	0	7
*	**Nasik Range**	**18**	**0**	**0**	**0**	**18**	**2**	**16**
30	Raigad	8	0	0	0	8	0	8
31	Ratnagiri	4	0	0	0	4	0	4
32	Sindhudurg	1	0	0	0	1	0	1
33	Thane Rural	4	0	0	0	4	2	2
34	Palghar	11	0	0	0	11	2	9
*	**Thane Range**	**28**	**0**	**0**	**0**	**28**	**4**	**24**
35	Mumbai Railway	0	0	0	0	0	0	0
36	Pune Railway	0	0	0	0	0	0	0
37	Nagpur Railway	0	0	0	0	0	0	0
*	**Railways Range**	**0**	**0**	**0**	**0**	**0**	**0**	**0**
38	Nagpur Commr.	13	0	0	0	13	0	13
39	Pune Commr.	21	0	0	0	21	0	21
40	Thane Commr.	10	0	0	0	10	0	10
41	Mumbai Commr.	38	0	0	0	38	4	34
42	Nasik Commr.	1	0	0	0	1	0	1
43	Aurangabad Commr.	4	0	0	0	4	0	4
44	Solapur Commr.	3	0	0	0	3	0	3
45	Navi Mumbai	9	0	0	0	9	0	9
46	Amravati Commr.	2	0	0	0	2	0	2
*	**Total of Commrs.**	**101**	**0**	**0**	**0**	**101**	**4**	**97**
**	**Total**	**267**	**0**	**0**	**0**	**267**	**18**	**249**

तक्ता क्र. ५५ (चालू)

TABLE NO. 55 (Continued)

Sr. No.	Unit	Attempt To Commit Rape (Section 376/511 IPC)	Kidnapping & Abduction (Section 363, 364, 364A, 366 IPC)					
			Kidnapping & Abduction (Total)	K & A (Section 363 IPC)	K & A (Section 364 IPC)	K & A For Ransom, Etc (Section 364A IPC)	K & A Of Women To Compel Her For Marriage, Etc (Section 366 IPC)	Others
1	2	14	15	16	17	18	19	20
1	Akola	0	1	1	0	0	0	0
2	Amravati Rural	0	2	0	0	0	2	0
3	Buldhana	0	0	0	0	0	0	0
4	Yavatmal	0	5	4	0	0	1	0
5	Washim	0	0	0	0	0	0	0
*	**Amaravati Range**	**0**	**8**	**5**	**0**	**0**	**3**	**0**
6	Aurangabad Rural	0	0	0	0	0	0	0
7	Jalna	0	0	0	0	0	0	0
8	Beed	0	1	0	0	0	1	0
9	Osmanabad	0	4	0	0	0	4	0
*	**A'bad Range**	**0**	**5**	**0**	**0**	**0**	**5**	**0**
10	Nanded	0	2	0	0	0	2	0
11	Latur	0	4	0	0	0	4	0
12	Parbhani	0	1	0	0	0	1	0
13	Hingoli	0	2	0	0	0	2	0
*	**Nanded Range**	**0**	**9**	**0**	**0**	**0**	**9**	**0**
14	Kolhapur	0	4	0	0	1	1	2
15	Pune Rural	0	4	4	0	0	0	0
16	Sangli	0	3	0	0	0	2	1
17	Satara	0	6	4	0	0	2	0
18	Solapur Rural	0	2	0	0	0	2	0
*	**Kolhapur Range**	**0**	**19**	**8**	**0**	**1**	**7**	**3**
19	Bhandara	0	1	1	0	0	0	0
20	Chandrapur	0	1	0	0	0	1	0
21	Nagpur Rural	0	0	0	0	0	0	0
22	Wardha	0	1	0	0	0	1	0
*	**Nagpur Range**	**0**	**3**	**1**	**0**	**0**	**2**	**0**
23	Gadchiroli	0	0	0	0	0	0	0
24	Gondia	0	2	0	0	0	0	2
*	**Gadchiroli Range**	**0**	**2**	**0**	**0**	**0**	**0**	**2**
25	Ahmednagar	0	4	0	0	0	4	0
26	Dhule	0	0	0	0	0	0	0
27	Jalgaon	0	5	0	0	0	5	0
28	Nasik Rural	0	12	2	0	0	10	0
29	Nandurbar	0	0	0	0	0	0	0
*	**Nasik Range**	**0**	**21**	**2**	**0**	**0**	**19**	**0**
30	Raigad	1	1	1	0	0	0	0
31	Ratnagiri	0	4	4	0	0	0	0
32	Sindhudurg	0	0	0	0	0	0	0
33	Thane Rural	0	6	6	0	0	0	0
34	Palghar	0	1	1	0	0	0	0
*	**Thane Range**	**1**	**12**	**12**	**0**	**0**	**0**	**0**
35	Mumbai Railway	0	1	1	0	0	0	0
36	Pune Railway	0	0	0	0	0	0	0
37	Nagpur Railway	0	1	0	0	0	0	1
*	**Railways Range**	**0**	**2**	**1**	**0**	**0**	**0**	**1**
38	Nagpur Commr.	0	7	2	0	0	0	5
39	Pune Commr.	0	18	10	0	2	4	2
40	Thane Commr.	0	10	9	0	0	0	1
41	Mumbai Commr.	0	32	31	0	0	0	1
42	Nasik Commr.	0	3	2	0	0	0	1
43	Aurangabad Commr.	0	2	2	0	0	0	0
44	Solapur Commr.	0	0	0	0	0	0	0
45	Navi Mumbai	0	6	6	0	0	0	0
46	Amravati Commr.	0	2	0	0	0	2	0
*	**Total of Commrs.**	**0**	**80**	**62**	**0**	**2**	**6**	**10**
**	**Total**	**1**	**161**	**91**	**0**	**3**	**51**	**16**

तक्ता क्र. ५५ (चालू)

TABLE NO. 55 (Continued)

Sr. No.	Unit	Dacoity (Section 395,396 & 398 IPC)			Making Preparation And Assembly For Committing Dacoity (Section 399 & 402 IPC)	Robbery (Section 392 To 394, 397 And 398 IPC)	Criminal Trespass/Burglary (Section 457 To 460 IPC)		
		Dacoity (Total)	Dacoity With Murder (Section 396 IPC)	Others			Criminal Trespass/Burglary (Section 457 To 460 IPC) (Total)	Criminal Trespass/Burglary (Section 457 & 458 IPC)	House Trespass & House Breaking (Section 459 & 460 IPC)
1	2	21	22	23	24	25	26	27	28
1	Akola	1	0	1	0	4	5	5	0
2	Amravati Rural	0	0	0	0	0	3	3	0
3	Buldhana	1	0	1	0	2	9	5	4
4	Yavatmal	0	0	0	1	3	6	5	1
5	Washim	0	0	0	0	0	2	1	1
*	**Amaravati Range**	**2**	**0**	**2**	**1**	**9**	**25**	**19**	**6**
6	Aurangabad Rural	3	0	3	0	2	9	1	8
7	Jalna	0	0	0	1	8	18	11	7
8	Beed	12	0	12	0	5	14	10	4
9	Osmanabad	6	0	6	0	0	19	4	15
*	**A'bad Range**	**21**	**0**	**21**	**1**	**15**	**60**	**26**	**34**
10	Nanded	6	0	6	0	7	2	2	0
11	Latur	0	0	0	0	3	4	4	0
12	Parbhani	0	0	0	0	2	27	21	6
13	Hingoli	0	0	0	0	0	3	0	3
*	**Nanded Range**	**6**	**0**	**6**	**0**	**12**	**36**	**27**	**9**
14	Kolhapur	0	0	0	3	13	15	11	4
15	Pune Rural	5	0	5	0	4	11	5	6
16	Sangli	5	0	5	0	8	10	9	1
17	Satara	11	0	11	4	14	14	14	0
18	Solapur Rural	0	0	0	1	0	3	3	0
*	**Kolhapur Range**	**21**	**0**	**21**	**8**	**39**	**53**	**42**	**11**
19	Bhandara	0	0	0	0	0	21	20	1
20	Chandrapur	0	0	0	0	0	6	6	0
21	Nagpur Rural	0	0	0	0	0	9	9	0
22	Wardha	0	0	0	0	0	7	6	1
*	**Nagpur Range**	**0**	**0**	**0**	**0**	**0**	**43**	**41**	**2**
23	Gadchiroli	0	0	0	0	0	1	1	0
24	Gondia	0	0	0	0	1	9	9	0
*	**Gadchiroli Range**	**0**	**0**	**0**	**0**	**1**	**10**	**10**	**0**
25	Ahmednagar	1	0	1	4	5	0	0	0
26	Dhule	0	0	0	0	3	0	0	0
27	Jalgaon	2	0	2	0	4	9	9	0
28	Nasik Rural	0	0	0	0	1	11	11	0
29	Nandurbar	0	0	0	0	1	3	2	1
*	**Nasik Range**	**3**	**0**	**3**	**4**	**14**	**23**	**22**	**1**
30	Raigad	4	0	4	0	3	11	10	1
31	Ratnagiri	0	0	0	0	0	2	1	1
32	Sindhudurg	0	0	0	0	0	2	1	1
33	Thane Rural	0	0	0	0	4	17	11	6
34	Palghar	0	0	0	0	5	26	22	4
*	**Thane Range**	**4**	**0**	**4**	**0**	**12**	**58**	**45**	**13**
35	Mumbai Railway	1	0	1	0	47	0	0	0
36	Pune Railway	0	0	0	0	11	0	0	0
37	Nagpur Railway	1	0	1	0	2	0	0	0
*	**Railways Range**	**2**	**0**	**2**	**0**	**60**	**0**	**0**	**0**
38	Nagpur Commr.	6	0	6	0	77	49	32	17
39	Pune Commr.	18	0	18	0	75	66	50	16
40	Thane Commr.	9	0	9	1	55	48	25	23
41	Mumbai Commr.	4	0	4	1	47	139	130	9
42	Nasik Commr.	0	0	0	0	16	36	31	5
43	Aurangabad Commr.	1	0	1	2	8	37	31	6
44	Solapur Commr.	0	0	0	0	1	7	7	0
45	Navi Mumbai	0	0	0	0	19	28	16	12
46	Amravati Commr.	0	0	0	0	1	1	1	0
*	**Total of Commrs.**	**38**	**0**	**38**	**4**	**299**	**411**	**323**	**88**
**	**Total**	**97**	**0**	**97**	**18**	**461**	**719**	**555**	**164**

तक्ता क्र. ५५ (चालू)

TABLE NO. 55 (Continued)

Sr. No.	Unit	Theft (Section 379 To 380 IPC)			Unlawful Assembly (Section 143, 144 & 145)	Riots (Total)	Communal	Industrial	Political
		Total Theft	Auto Theft	Other Thefts					
1	2	29	30	31	32	33	34	35	36
1	Akola	38	6	32	4	16	0	0	0
2	Amravati Rural	26	5	21	0	0	0	0	0
3	Buldhana	19	0	19	0	32	1	0	0
4	Yavatmal	4	2	18	0	3	0	0	0
5	Washim	19	1	2	0	1	0	0	0
*	**Amaravati Range**	**106**	**14**	**92**	**4**	**52**	**1**	**0**	**0**
6	Aurangabad Rural	14	1	13	0	18	0	0	0
7	Jalna	15	5	10	5	6	0	0	0
8	Beed	13	0	13	0	29	0	0	0
9	Osmanabad	16	3	13	0	24	0	0	0
*	**A'bad Range**	**58**	**9**	**49**	**5**	**77**	**0**	**0**	**0**
10	Nanded	27	15	12	0	15	0	0	0
11	Latur	10	0	10	0	2	0	0	0
12	Parbhani	19	5	14	0	4	0	0	0
13	Hingoli	0	0	0	3	11	0	0	0
*	**Nanded Range**	**56**	**20**	**36**	**3**	**32**	**0**	**0**	**0**
14	Kolhapur	44	25	19	3	41	0	0	0
15	Pune Rural	21	12	9	4	13	0	0	0
16	Sangli	34	7	27	1	29	0	0	0
17	Satara	47	6	41	0	80	0	0	2
18	Solapur Rural	26	0	26	0	26	0	0	0
*	**Kolhapur Range**	**172**	**50**	**122**	**8**	**189**	**0**	**0**	**2**
19	Bhandara	29	2	27	1	1	0	0	0
20	Chandrapur	24	0	24	1	0	0	0	0
21	Nagpur Rural	12	0	12	0	7	0	0	0
22	Wardha	22	0	22	0	3	0	0	0
*	**Nagpur Range**	**87**	**2**	**85**	**2**	**11**	**0**	**0**	**0**
23	Gadchiroli	1	0	1	0	5	0	0	0
24	Gondia	16	3	13	2	0	0	0	0
*	**Gadchiroli Range**	**17**	**3**	**14**	**2**	**5**	**0**	**0**	**0**
25	Ahmednagar	8	0	8	0	0	0	0	0
26	Dhule	2	0	2	2	7	0	0	0
27	Jalgaon	12	3	9	0	27	4	0	1
28	Nasik Rural	9	3	6	2	9	0	0	0
29	Nandurbar	5	1	4	0	2	0	0	0
*	**Nasik Range**	**36**	**7**	**29**	**4**	**45**	**4**	**0**	**1**
30	Raigad	22	11	11	0	9	0	0	0
31	Ratnagiri	9	3	6	0	21	2	0	1
32	Sindhudurg	2	0	2	0	2	0	0	0
33	Thane Rural	10	2	8	0	10	0	0	0
34	Palghar	39	18	21	0	6	0	0	0
*	**Thane Range**	**82**	**34**	**48**	**0**	**48**	**2**	**0**	**1**
35	Mumbai Railway	149	0	149	0	1	0	0	0
36	Pune Railway	7	0	7	0	0	0	0	0
37	Nagpur Railway	19	0	19	0	0	0	0	0
*	**Railways Range**	**175**	**0**	**175**	**0**	**1**	**0**	**0**	**0**
38	Nagpur Commr.	138	78	60	2	27	0	0	0
39	Pune Commr.	223	131	92	8	75	0	0	0
40	Thane Commr.	102	57	45	0	32	0	0	0
41	Mumbai Commr.	279	92	187	15	36	0	0	0
42	Nasik Commr.	36	13	23	0	6	0	0	0
43	Aurangabad Commr.	56	29	27	2	5	0	0	0
44	Solapur Commr.	14	0	14	0	4	0	0	0
45	Navi Mumbai	78	42	36	0	9	0	0	2
46	Amravati Commr.	20	0	20	2	0	0	0	0
*	**Total of Commrs.**	**946**	**442**	**504**	**29**	**194**	**0**	**0**	**2**
**	**Total**	**1735**	**581**	**1154**	**57**	**654**	**7**	**0**	**6**

तक्ता क्र. ५५ (चालू)

TABLE NO. 55 (Continued)

Sr. No.	UNIT	Caste Conflict			Agrarian	Students	Sectarian	Others (Other Than the previous columns)
		Caste Conflict (Total)	SC/STs Vs. Non-SCs/STs	Others				
1	2	37	38	39	40	41	42	43
1	Akola	0	0	0	0	0	0	16
2	Amravati Rural	0	0	0	0	0	0	0
3	Buldhana	0	0	0	0	0	0	31
4	Yavatmal	1	0	1	0	0	0	0
5	Washim	0	0	0	0	0	0	3
*	**Amaravati Range**	**1**	**0**	**1**	**0**	**0**	**0**	**50**
6	Aurangabad Rural	0	0	0	0	0	0	18
7	Jalna	0	0	0	0	0	0	6
8	Beed	0	0	0	0	0	0	29
9	Osmanabad	0	0	0	0	0	0	24
*	**A'bad Range**	**0**	**0**	**0**	**0**	**0**	**0**	**77**
10	Nanded	0	0	0	0	0	0	15
11	Latur	0	0	0	0	0	0	2
12	Parbhani	4	4	0	0	0	0	0
13	Hingoli	0	0	0	0	0	0	11
*	**Nanded Range**	**4**	**4**	**0**	**0**	**0**	**0**	**28**
14	Kolhapur	0	0	0	0	0	0	41
15	Pune Rural	0	0	0	0	0	0	13
16	Sangli	0	0	0	0	0	0	29
17	Satara	0	0	0	0	0	0	78
18	Solapur Rural	0	0	0	0	0	0	26
*	**Kolhapur Range**	**0**	**0**	**0**	**0**	**0**	**0**	**187**
19	Bhandara	0	0	0	0	0	0	1
20	Chandrapur	0	0	0	0	0	0	0
21	Nagpur Rural	0	0	0	0	0	0	7
22	Wardha	0	0	0	0	0	0	3
*	**Nagpur Range**	**0**	**0**	**0**	**0**	**0**	**0**	**11**
23	Gadchiroli	0	0	0	0	0	0	5
24	Gondia	0	0	0	0	0	0	0
*	**Gadchiroli Range**	**0**	**0**	**0**	**0**	**0**	**0**	**5**
25	Ahmednagar	0	0	0	0	0	0	0
26	Dhule	0	0	0	0	0	0	7
27	Jalgaon	0	0	0	0	0	0	22
28	Nasik Rural	0	0	0	0	0	0	9
29	Nandurbar	0	0	0	0	0	0	2
*	**Nasik Range**	**0**	**0**	**0**	**0**	**0**	**0**	**40**
30	Raigad	2	2	0	0	0	0	7
31	Ratnagiri	0	0	0	0	0	0	18
32	Sindhudurg	0	0	0	0	0	0	2
33	Thane Rural	0	0	0	0	0	0	10
34	Palghar	0	0	0	1	0	0	5
*	**Thane Range**	**2**	**2**	**0**	**1**	**0**	**0**	**42**
35	Mumbai Railway	0	0	0	0	0	0	1
36	Pune Railway	0	0	0	0	0	0	0
37	Nagpur Railway	0	0	0	0	0	0	0
*	**Railways Range**	**0**	**0**	**0**	**0**	**0**	**0**	**1**
38	Nagpur Commr.	0	0	0	0	0	0	27
39	Pune Commr.	0	0	0	0	0	0	75
40	Thane Commr.	0	0	0	0	0	0	32
41	Mumbai Commr.	0	0	0	0	0	0	36
42	Nasik Commr.	0	0	0	0	0	0	6
43	Aurangabad Commr.	0	0	0	0	0	0	5
44	Solapur Commr.	0	0	0	0	0	0	4
45	Navi Mumbai	0	0	0	0	0	0	7
46	Amravati Commr.	0	0	0	0	0	0	0
*	**Total of Commrs.**	**0**	**0**	**0**	**0**	**0**	**0**	**192**
**	**Total**	**7**	**6**	**1**	**1**	**0**	**0**	**633**

तक्ता क्र. ५५ (चालू)

TABLE NO. 55 (Continued)

Sr. No.	Unit	Criminal Breach of Trust (Section 406 to 409 IPC)	Cheating (Section 419 to 420 IPC)	Forgery (Section 468 & 471 IPC)	Counterfeiting (Section 231 - 254 And 489-A To 489-E IPC)					
					Counterfeiting (Total)	Offences Related To Counterfeit Coin (Section 231-235,237, 238-240 & 242-243 IPC)	Counterfeiting Government Stamp (Section 255 IPC)	Counterfeit Currency & Bank Notes (Section 489-A To 489-E IPC)		
								Counterfeit Currency & Bank Notes (Total)	Counterfeiting Currency-Notes Or Bank Notes (Section 489A IPC)	Using As Genuine, Forged Or Counterfeiting Currency / Bank Notes (Section 489B IPC)
1	2	44	45	46	47	48	49	50	51	52
1	Akola	0	0	0	0	0	0	0	0	0
2	Amravati Rural	0	0	0	0	0	0	0	0	0
3	Buldhana	0	0	0	0	0	0	0	0	0
4	Yavatmal	0	0	0	0	0	0	0	0	0
5	Washim	0	0	0	0	0	0	0	0	0
*	**Amaravati Range**	**0**	**0**	**0**	**0**	**0**	**0**	**0**	**0**	**0**
6	Aurangabad Rural	0	0	0	0	0	0	0	0	0
7	Jalna	0	0	0	0	0	0	0	0	0
8	Beed	0	0	0	0	0	0	0	0	0
9	Osmanabad	0	1	0	0	0	0	0	0	0
*	**A'bad Range**	**0**	**1**	**0**	**0**	**0**	**0**	**0**	**0**	**0**
10	Nanded	0	0	0	0	0	0	0	0	0
11	Latur	0	0	0	0	0	0	0	0	0
12	Parbhani	0	0	0	0	0	0	0	0	0
13	Hingoli	0	0	0	0	0	0	0	0	0
*	**Nanded Range**	**0**	**0**	**0**	**0**	**0**	**0**	**0**	**0**	**0**
14	Kolhapur	0	0	0	0	0	0	0	0	0
15	Pune Rural	0	0	0	0	0	0	0	0	0
16	Sangli	0	0	0	0	0	0	0	0	0
17	Satara	0	1	0	0	0	0	0	0	0
18	Solapur Rural	0	0	0	0	0	0	0	0	0
*	**Kolhapur Range**	**0**	**1**	**0**	**0**	**0**	**0**	**0**	**0**	**0**
19	Bhandara	0	0	0	0	0	0	0	0	0
20	Chandrapur	3	0	0	0	0	0	0	0	0
21	Nagpur Rural	0	0	0	0	0	0	0	0	0
22	Wardha	0	0	0	0	0	0	0	0	0
*	**Nagpur Range**	**3**	**0**	**0**	**0**	**0**	**0**	**0**	**0**	**0**
23	Gadchiroli	0	0	0	0	0	0	0	0	0
24	Gondia	0	0	0	0	0	0	0	0	0
*	**Gadchiroli Range**	**0**	**0**	**0**	**0**	**0**	**0**	**0**	**0**	**0**
25	Ahmednagar	0	0	0	0	0	0	0	0	0
26	Dhule	0	0	0	0	0	0	0	0	0
27	Jalgaon	1	1	0	0	0	0	0	0	0
28	Nasik Rural	0	1	0	0	0	0	0	0	0
29	Nandurbar	0	3	0	0	0	0	0	0	0
*	**Nasik Range**	**1**	**5**	**0**	**0**	**0**	**0**	**0**	**0**	**0**
30	Raigad	0	0	0	0	0	0	0	0	0
31	Ratnagiri	0	1	0	0	0	0	0	0	0
32	Sindhudurg	0	0	0	0	0	0	0	0	0
33	Thane Rural	0	0	0	0	0	0	0	0	0
34	Palghar	0	0	0	0	0	0	0	0	0
*	**Thane Range**	**0**	**1**	**0**	**0**	**0**	**0**	**0**	**0**	**0**
35	Mumbai Railway	0	1	0	1	0	0	1	0	1
36	Pune Railway	0	0	0	0	0	0	0	0	0
37	Nagpur Railway	0	0	0	0	0	0	0	0	0
*	**Railways Range**	**0**	**1**	**0**	**1**	**0**	**0**	**1**	**0**	**1**
38	Nagpur Commr.	0	1	0	0	0	0	0	0	0
39	Pune Commr.	0	2	0	0	0	0	0	0	0
40	Thane Commr.	0	0	0	0	0	0	0	0	0
41	Mumbai Commr.	0	4	0	0	0	0	0	0	0
42	Nasik Commr.	0	0	0	0	0	0	0	0	0
43	Aurangabad Commr.	0	0	0	0	0	0	0	0	0
44	Solapur Commr.	0	0	0	0	0	0	0	0	0
45	Navi Mumbai	0	1	0	0	0	0	0	0	0
46	Amravati Commr.	0	0	0	0	0	0	0	0	0
*	**Total of Commrs.**	**0**	**8**	**0**	**0**	**0**	**0**	**0**	**0**	**0**
**	**Total**	**4**	**17**	**0**	**1**	**0**	**0**	**1**	**0**	**1**

तक्ता क्र. ५५ (चालू)

TABLE NO. 55 (Continued)

Sr. No.	Unit	Counterfeit Currency & Bank Notes (Section 489-A To 489-E IPC) (concluded)			Arson (Section 436 IPC)	Grievous Hurt (325,326,326A & 326 B IPC)				Dowry Deaths (Section 304-B IPC)
		Counterfeit Currency & Bank Notes (Total)	Counterfeiting Currency- Notes Or Bank Notes (Section 489A IPC)	Using As Genuine, Forged Or Counterfeiting Currency / Bank Notes (Section 489B IPC)		Grievous Hurt (325,326,326A & 326 B IPC) Total	Counterfeit Currency & Bank Notes (Total)	Counterfeiting Currency- Notes Or Bank Notes (Section 489A IPC)	Using As Genuine, Forged Or Counterfeiting Currency / Bank Notes (Section 489B IPC)	
1	2	53	54	55	56	57	58	59	60	61
1	Akola	0	0	0	1	6	6	0	0	0
2	Amravati Rural	0	0	0	0	3	3	0	0	0
3	Buldhana	0	0	0	2	0	0	0	0	0
4	Yavatmal	0	0	0	0	0	0	0	0	0
5	Washim	0	0	0	0	14	14	0	0	0
*	**Amaravati Range**	**0**	**0**	**0**	**3**	**23**	**23**	**0**	**0**	**0**
6	Aurangabad Rural	0	0	0	0	2	2	0	0	0
7	Jalna	0	0	0	0	6	6	0	0	0
8	Beed	0	0	0	0	1	1	0	0	0
9	Osmanabad	0	0	0	0	1	1	0	0	0
*	**A'bad Range**	**0**	**0**	**0**	**0**	**10**	**10**	**0**	**0**	**0**
10	Nanded	0	0	0	0	4	4	0	0	1
11	Latur	0	0	0	0	4	4	0	0	0
12	Parbhani	0	0	0	0	15	15	0	0	1
13	Hingoli	0	0	0	0	1	1	0	0	0
*	**Nanded Range**	**0**	**0**	**0**	**0**	**24**	**24**	**0**	**0**	**2**
14	Kolhapur	0	0	0	2	15	15	0	0	3
15	Pune Rural	0	0	0	2	3	3	0	0	0
16	Sangli	0	0	0	0	8	8	0	0	0
17	Satara	0	0	0	0	6	6	0	0	0
18	Solapur Rural	0	0	0	1	5	5	0	0	0
*	**Kolhapur Range**	**0**	**0**	**0**	**5**	**37**	**37**	**0**	**0**	**3**
19	Bhandara	0	0	0	0	1	1	0	0	0
20	Chandrapur	0	0	0	0	1	1	0	0	0
21	Nagpur Rural	0	0	0	0	0	0	0	0	0
22	Wardha	0	0	0	0	1	1	0	0	0
*	**Nagpur Range**	**0**	**0**	**0**	**0**	**3**	**3**	**0**	**0**	**0**
23	Gadchiroli	0	0	0	0	1	1	0	0	0
24	Gondia	0	0	0	0	1	1	0	0	0
*	**Gadchiroli Range**	**0**	**0**	**0**	**0**	**2**	**2**	**0**	**0**	**0**
25	Ahmednagar	0	0	0	0	15	15	0	0	0
26	Dhule	0	0	0	0	0	0	0	0	0
27	Jalgaon	0	0	0	0	3	3	0	0	0
28	Nasik Rural	0	0	0	1	9	9	0	0	1
29	Nandurbar	0	0	0	0	2	2	0	0	0
*	**Nasik Range**	**0**	**0**	**0**	**1**	**29**	**29**	**0**	**0**	**1**
30	Raigad	0	0	0	0	2	2	0	0	0
31	Ratnagiri	0	0	0	1	0	0	0	0	0
32	Sindhudurg	0	0	0	0	0	0	0	0	0
33	Thane Rural	0	0	0	0	7	7	0	0	0
34	Palghar	0	0	0	0	7	7	0	0	0
*	**Thane Range**	**0**	**0**	**0**	**1**	**16**	**16**	**0**	**0**	**0**
35	Mumbai Railway	0	0	0	0	1	1	0	0	0
36	Pune Railway	0	0	0	0	0	0	0	0	0
37	Nagpur Railway	0	0	0	0	1	1	0	0	0
*	**Railways Range**	**0**	**0**	**0**	**0**	**2**	**2**	**0**	**0**	**0**
38	Nagpur Commr.	0	0	0	1	24	24	0	0	0
39	Pune Commr.	0	0	0	1	99	99	0	0	0
40	Thane Commr.	0	0	0	0	32	32	0	0	0
41	Mumbai Commr.	0	0	0	1	85	85	0	0	0
42	Nasik Commr.	0	0	0	2	9	9	0	0	0
43	Aurangabad Commr.	0	0	0	0	24	24	0	0	0
44	Solapur Commr.	0	0	0	0	0	0	0	0	0
45	Navi Mumbai	0	0	0	0	8	8	0	0	0
46	Amravati Commr.	0	0	0	0	1	1	0	0	0
*	**Total of Commrs.**	**0**	**0**	**0**	**5**	**282**	**282**	**0**	**0**	**0**
**	**Total**	**0**	**0**	**0**	**15**	**428**	**428**	**0**	**0**	**6**

तक्ता क्र. ५५ (चालू)

TABLE NO. 55 (Continued)

Sr. No.	Unit	Assault On Women With Intent To Outrage Her Modesty (Section 354 IPC) (Total)	Sexual Harassment (Section 354A IPC)	Asault Or Use Of Criminal Force To Women With Intent To Disrobe (Section 354B IPC)	Voyeurism(Section 354C IPC)	Stalking (Section 354D IPC)	Other	insult to modesty of women(Total)	At Office Premises
1	2	62	63	64	65	66	67	68	69
1	Akola	14	0	3	0	7	4	0	0
2	Amravati Rural	42	11	3	5	9	14	0	0
3	Buldhana	7	4	0	0	1	2	1	0
4	Yavatmal	7	6	0	0	0	1	2	0
5	Washim	1	1	0	0	0	0	0	0
*	**Amaravati Range**	**71**	**22**	**6**	**5**	**17**	**21**	**3**	**0**
6	Aurangabad Rural	7	6	0	0	0	1	0	0
7	Jalna	6	4	0	0	0	2	0	0
8	Beed	7	2	0	0	1	4	0	0
9	Osmanabad	3	3	0	0	0	0	0	0
*	**A'bad Range**	**23**	**15**	**0**	**0**	**1**	**7**	**0**	**0**
10	Nanded	9	9	0	0	0	0	0	0
11	Latur	9	0	0	0	0	9	0	0
12	Parbhani	11	6	1	0	2	2	3	0
13	Hingoli	6	2	0	0	3	1	0	0
*	**Nanded Range**	**35**	**17**	**1**	**0**	**5**	**12**	**3**	**0**
14	Kolhapur	5	1	0	1	1	2	0	0
15	Pune Rural	15	8	2	0	1	4	0	0
16	Sangli	10	0	0	1	2	7	0	0
17	Satara	15	5	2	0	5	3	0	0
18	Solapur Rural	8	0	2	0	0	6	0	0
*	**Kolhapur Range**	**53**	**14**	**6**	**2**	**9**	**22**	**0**	**0**
19	Bhandara	2	2	0	0	0	0	0	0
20	Chandrapur	4	0	0	0	0	4	0	0
21	Nagpur Rural	1	0	0	0	0	1	1	0
22	Wardha	2	2	0	0	0	0	0	0
*	**Nagpur Range**	**9**	**4**	**0**	**0**	**0**	**5**	**1**	**0**
23	Gadchiroli	0	0	0	0	0	0	0	0
24	Gondia	9	4	0	0	0	5	0	0
*	**Gadchiroli Range**	**9**	**4**	**0**	**0**	**0**	**5**	**0**	**0**
25	Ahmednagar	4	4	0	0	0	0	0	0
26	Dhule	1	0	0	0	0	1	0	0
27	Jalgaon	7	7	0	0	0	0	1	0
28	Nasik Rural	2	2	0	0	0	0	0	0
29	Nandurbar	1	1	0	0	0	0	0	0
*	**Nasik Range**	**15**	**14**	**0**	**0**	**0**	**1**	**1**	**0**
30	Raigad	4	1	0	0	2	1	0	0
31	Ratnagiri	0	0	0	0	0	0	0	0
32	Sindhudurg	0	0	0	0	0	0	0	0
33	Thane Rural	9	5	0	0	0	4	0	0
34	Palghar	6	0	0	0	2	4	3	0
*	**Thane Range**	**19**	**6**	**0**	**0**	**4**	**9**	**3**	**0**
35	Mumbai Railway	4	1	0	0	0	3	0	0
36	Pune Railway	0	0	0	0	0	0	0	0
37	Nagpur Railway	0	0	0	0	0	0	0	0
*	**Railways Range**	**4**	**1**	**0**	**0**	**0**	**3**	**0**	**0**
38	Nagpur Commr.	12	7	1	0	2	2	0	0
39	Pune Commr.	33	25	4	0	1	3	4	0
40	Thane Commr.	18	8	0	0	4	6	1	0
41	Mumbai Commr.	54	20	3	0	10	21	2	0
42	Nasik Commr.	8	6	0	0	0	2	0	0
43	Aurangabad Commr.	8	0	0	0	3	5	0	0
44	Solapur Commr.	2	0	0	0	0	2	0	0
45	Navi Mumbai	8	2	0	0	1	5	0	0
46	Amravati Commr.	4	4	0	0	0	0	0	0
*	**Total of Commrs.**	**147**	**72**	**8**	**0**	**21**	**46**	**7**	**0**
**	**Total**	**385**	**169**	**21**	**7**	**57**	**131**	**18**	**0**

तक्ता क्र. ५५ (चालू)

TABLE NO. 55 (Continued)

Sr. No.	UNIT	Insult To The Modesty Of Women (Section 509 IPC)					Cruelty By Husband Or His Relatives (Section 498-A IPC)	Importation Of Girls From Foreign Country (Section 366-B IPC)
		Insult To The Modesty Of Women (Total)	At Office Premises	Other Places Related To Work	In Public Transport System	Places Other Than (Previous Columns)		
1	2	68	69	70	71	72	73	74
1	Akola	0	0	0	0	0	4	0
2	Amravati Rural	0	0	0	0	0	0	0
3	Buldhana	1	0	0	1	0	0	0
4	Yavatmal	2	0	0	0	2	0	0
5	Washim	0	0	0	0	0	1	0
*	**Amaravati Range**	**3**	**0**	**0**	**1**	**2**	**5**	**0**
6	Aurangabad Rural	0	0	0	0	0	0	0
7	Jalna	0	0	0	0	0	0	0
8	Beed	0	0	0	0	0	1	0
9	Osmanabad	0	0	0	0	0	0	0
*	**A'bad Range**	**0**	**0**	**0**	**0**	**0**	**1**	**0**
10	Nanded	0	0	0	0	3	0	0
11	Latur	0	0	0	0	0	0	0
12	Parbhani	3	0	0	0	0	0	0
13	Hingoli	0	0	0	0	0	0	0
*	**Nanded Range**	**3**	**0**	**0**	**0**	**3**	**0**	**0**
14	Kolhapur	0	0	0	0	0	0	0
15	Pune Rural	0	0	0	0	0	1	0
16	Sangli	0	0	0	0	0	2	0
17	Satara	0	0	0	0	0	0	0
18	Solapur Rural	0	0	0	0	0	0	0
*	**Kolhapur Range**	**0**	**0**	**0**	**0**	**0**	**3**	**0**
19	Bhandara	0	0	0	0	0	0	0
20	Chandrapur	0	0	0	0	0	0	0
21	Nagpur Rural	1	0	0	0	1	0	0
22	Wardha	0	0	0	0	0	0	0
*	**Nagpur Range**	**1**	**0**	**0**	**0**	**1**	**0**	**0**
23	Gadchiroli	0	0	0	0	0	0	0
24	Gondia	0	0	0	0	0	2	0
*	**Gadchiroli Range**	**0**	**0**	**0**	**0**	**0**	**2**	**0**
25	Ahmednagar	0	0	0	0	0	0	0
26	Dhule	0	0	0	0	0	0	0
27	Jalgaon	1	0	0	0	1	4	0
28	Nasik Rural	0	0	0	0	0	0	0
29	Nandurbar	0	0	0	0	0	0	0
*	**Nasik Range**	**1**	**0**	**0**	**0**	**1**	**4**	**0**
30	Raigad	0	0	0	0	3	0	0
31	Ratnagiri	0	0	0	0	0	0	0
32	Sindhudurg	0	0	0	0	0	0	0
33	Thane Rural	0	0	0	0	0	0	0
34	Palghar	3	0	0	0	0	0	0
*	**Thane Range**	**3**	**0**	**0**	**0**	**3**	**0**	**0**
35	Mumbai Railway	0	0	0	0	0	0	0
36	Pune Railway	0	0	0	0	0	0	0
37	Nagpur Railway	0	0	0	0	0	0	0
*	**Railways Range**	**0**	**0**	**0**	**0**	**0**	**0**	**0**
38	Nagpur Commr.	0	0	0	0	0	0	0
39	Pune Commr.	4	0	0	0	4	0	0
40	Thane Commr.	1	0	1	0	0	0	0
41	Mumbai Commr.	2	0	0	0	2	2	0
42	Nasik Commr.	0	0	0	0	0	1	0
43	Aurangabad Commr.	0	0	0	0	0	2	0
44	Solapur Commr.	0	0	0	0	0	0	0
45	Navi Mumbai	0	0	0	0	0	0	0
46	Amravati Commr.	0	0	0	0	0	0	0
*	**Total of Commrs.**	**7**	**0**	**1**	**0**	**6**	**5**	**0**
**	**Total**	**18**	**0**	**1**	**1**	**16**	**20**	**0**

तक्ता क्र. ५५ (चालू)

TABLE NO. 55 (Continued)

Sr. No.	Unit	Causing Death By Negligence (Section 304-A IPC)			Offences Against State (Section 121, 121A, 122, 123, 124-A IPC)		
		Causing Death By Negligence (Section 304-A IPC)	Deaths Due To Rash/Negligent Driving	Deaths Due To Other Causes	Offences Against State (Section 121, 121A, 122, 123, 124-A IPC)	Sedition (Section 124A IPC)	Others (Section 121, 121A, 122 & 123 IPC)
1	2	75	76	77	78	79	80
1	Akola	1	1	0	0	0	0
2	Amravati Rural	17	17	0	0	0	0
3	Buldhana	0	0	0	0	0	0
4	Yavatmal	0	0	0	0	0	0
5	Washim	0	0	0	0	0	0
*	**Amaravati Range**	**18**	**18**	**0**	**0**	**0**	**0**
6	Aurangabad Rural	0	0	0	0	0	0
7	Jalna	3	0	3	0	0	0
8	Beed	1	1	0	0	0	0
9	Osmanabad	1	1	0	0	0	0
*	**A'bad Range**	**5**	**2**	**3**	**0**	**0**	**0**
10	Nanded	0	0	0	0	0	0
11	Latur	0	0	0	0	0	0
12	Parbhani	0	0	0	0	0	0
13	Hingoli	9	9	0	0	0	0
*	**Nanded Range**	**9**	**9**	**0**	**0**	**0**	**0**
14	Kolhapur	0	0	0	0	0	0
15	Pune Rural	1	1	0	0	0	0
16	Sangli	2	2	0	0	0	0
17	Satara	6	5	1	0	0	0
18	Solapur Rural	0	0	0	0	0	0
*	**Kolhapur Range**	**9**	**8**	**1**	**0**	**0**	**0**
19	Bhandara	0	0	0	0	0	0
20	Chandrapur	0	0	0	0	0	0
21	Nagpur Rural	4	4	0	0	0	0
22	Wardha	2	2	0	0	0	0
*	**Nagpur Range**	**6**	**6**	**0**	**0**	**0**	**0**
23	Gadchiroli	0	0	0	0	0	0
24	Gondia	0	0	0	0	0	0
*	**Gadchiroli Range**	**0**	**0**	**0**	**0**	**0**	**0**
25	Ahmednagar	0	0	0	0	0	0
26	Dhule	0	0	0	0	0	0
27	Jalgaon	0	0	0	0	0	0
28	Nasik Rural	0	0	0	0	0	0
29	Nandurbar	0	0	0	0	0	0
*	**Nasik Range**	**0**	**0**	**0**	**0**	**0**	**0**
30	Raigad	3	3	0	0	0	0
31	Ratnagiri	1	1	0	0	0	0
32	Sindhudurg	0	0	0	0	0	0
33	Thane Rural	2	2	0	0	0	0
34	Palghar	1	1	0	0	0	0
*	**Thane Range**	**7**	**7**	**0**	**0**	**0**	**0**
35	Mumbai Railway	0	0	0	0	0	0
36	Pune Railway	0	0	0	0	0	0
37	Nagpur Railway	0	0	0	0	0	0
*	**Railways Range**	**0**	**0**	**0**	**0**	**0**	**0**
38	Nagpur Commr.	4	4	0	0	0	0
39	Pune Commr.	8	7	1	0	0	0
40	Thane Commr.	11	7	4	0	0	0
41	Mumbai Commr.	10	9	1	0	0	0
42	Nasik Commr.	2	2	0	0	0	0
43	Aurangabad Commr.	1	1	0	0	0	0
44	Solapur Commr.	1	1	0	0	0	0
45	Navi Mumbai	2	2	0	0	0	0
46	Amravati Commr.	0	0	0	0	0	0
*	**Total of Commrs.**	**39**	**33**	**6**	**0**	**0**	**0**
**	**Total**	**93**	**83**	**10**	**0**	**0**	**0**

तक्ता क्र. ५५ (चालू)

TABLE NO. 55 (Continued)

Sr. No.	Unit	Offences Promoting Enmity Between Different Groups (Section 153A & 153B IPC)			Extortion (Section 384 IPC)	Disclosure Of Identity Of Victims (Section 228 A IPC)
		Offences Promoting Enmity Between Different Groups (Section 153A & 153B IPC)	Promoting Enmity Between Different Groups On Ground Of Religion, Race, Place Of Birth, Etc (Section 153A IPC)	Imputation, Assertions Prejudicial To National Integration (Section 153B IPC)		
1	2	81	82	83	84	85
1	Akola	0	0	0	0	0
2	Amravati Rural	0	0	0	0	0
3	Buldhana	0	0	0	0	0
4	Yavatmal	0	0	0	0	0
5	Washim	0	0	0	0	0
*	**Amaravati Range**	**0**	**0**	**0**	**0**	**0**
6	Aurangabad Rural	0	0	0	0	0
7	Jalna	0	0	0	0	0
8	Beed	0	0	0	0	0
9	Osmanabad	0	0	0	0	0
*	**A'bad Range**	**0**	**0**	**0**	**0**	**0**
10	Nanded	0	0	0	0	0
11	Latur	0	0	0	0	0
12	Parbhani	0	0	0	0	0
13	Hingoli	0	0	0	0	0
*	**Nanded Range**	**0**	**0**	**0**	**0**	**0**
14	Kolhapur	0	0	0	0	0
15	Pune Rural	0	0	0	0	0
16	Sangli	0	0	0	0	0
17	Satara	0	0	0	0	0
18	Solapur Rural	0	0	0	0	0
*	**Kolhapur Range**	**0**	**0**	**0**	**0**	**0**
19	Bhandara	0	0	0	0	0
20	Chandrapur	0	0	0	0	0
21	Nagpur Rural	0	0	0	0	0
22	Wardha	0	0	0	0	0
*	**Nagpur Range**	**0**	**0**	**0**	**0**	**0**
23	Gadchiroli	0	0	0	0	0
24	Gondia	0	0	0	0	0
*	**Gadchiroli Range**	**0**	**0**	**0**	**0**	**0**
25	Ahmednagar	0	0	0	0	0
26	Dhule	0	0	0	0	0
27	Jalgaon	0	0	0	0	0
28	Nasik Rural	0	0	0	0	0
29	Nandurbar	0	0	0	1	0
*	**Nasik Range**	**0**	**0**	**0**	**1**	**0**
30	Raigad	0	0	0	0	0
31	Ratnagiri	0	0	0	0	0
32	Sindhudurg	0	0	0	0	0
33	Thane Rural	0	0	0	0	0
34	Palghar	0	0	0	0	0
*	**Thane Range**	**0**	**0**	**0**	**0**	**0**
35	Mumbai Railway	0	0	0	0	0
36	Pune Railway	0	0	0	0	0
37	Nagpur Railway	0	0	0	0	0
*	**Railways Range**	**0**	**0**	**0**	**0**	**0**
38	Nagpur Commr.	0	0	0	6	0
39	Pune Commr.	0	0	0	6	0
40	Thane Commr.	0	0	0	2	0
41	Mumbai Commr.	0	0	0	3	0
42	Nasik Commr.	0	0	0	0	0
43	Aurangabad Commr.	0	0	0	1	0
44	Solapur Commr.	0	0	0	0	0
45	Navi Mumbai	0	0	0	2	0
46	Amravati Commr.	0	0	0	0	0
*	**Total of Commrs.**	**0**	**0**	**0**	**20**	**0**
**	**Total**	**0**	**0**	**0**	**21**	**0**

तक्ता क्र. ५५ (पूर्ण)

TABLE NO. 55 (Concluded)

Sr. No.	Unit	Incidence Of Rash Driving/Road Rage (Under Section 279 IPC) (Read With Other Sections Of IPC Also)	Human trafficking (Under Section 370 & 370A IPC)	Unnatural Offences	Other IPC Crimes	Total Cognizable IPC Crimes (Excluding columns of Sub crime Heads)
1	**2**	**86**	**87**	**88**	**89**	**90**
1	Akola	0	0	0	36	144
2	Amravati Rural	25	0	0	88	219
3	Buldhana	1	0	0	38	117
4	Yavatmal	1	0	0	19	71
5	Washim	0	0	1	2	36
*	**Amaravati Range**	**27**	**0**	**1**	**183**	**587**
6	Aurangabad Rural	1	0	1	16	82
7	Jalna	0	0	0	8	83
8	Beed	2	0	0	13	115
9	Osmanabad	1	0	0	32	123
*	**A'bad Range**	**4**	**0**	**1**	**69**	**403**
10	Nanded	7	0	0	55	155
11	Latur	0	0	0	6	54
12	Parbhani	1	0	0	24	116
13	Hingoli	0	0	0	5	46
*	**Nanded Range**	**8**	**0**	**0**	**90**	**371**
14	Kolhapur	5	0	0	23	197
15	Pune Rural	1	0	0	15	126
16	Sangli	1	0	1	32	168
17	Satara	0	0	0	40	281
18	Solapur Rural	2	0	1	32	116
*	**Kolhapur Range**	**9**	**0**	**2**	**142**	**888**
19	Bhandara	4	0	0	9	74
20	Chandrapur	5	0	0	24	75
21	Nagpur Rural	2	0	0	18	62
22	Wardha	0	0	0	22	66
*	**Nagpur Range**	**11**	**0**	**0**	**73**	**277**
23	Gadchiroli	0	0	0	3	13
24	Gondia	0	0	0	17	75
*	**Gadchiroli Range**	**0**	**0**	**0**	**20**	**88**
25	Ahmednagar	0	0	0	0	47
26	Dhule	0	0	0	3	18
27	Jalgaon	9	0	0	13	113
28	Nasik Rural	1	0	1	11	82
29	Nandurbar	1	0	0	1	31
*	**Nasik Range**	**11**	**0**	**1**	**28**	**291**
30	Raigad	10	0	1	8	93
31	Ratnagiri	3	0	0	16	64
32	Sindhudurg	1	0	0	1	9
33	Thane Rural	4	0	0	7	90
34	Palghar	3	0	0	2	113
*	**Thane Range**	**21**	**0**	**1**	**34**	**369**
35	Mumbai Railway	0	0	0	8	215
36	Pune Railway	0	0	0	0	25
37	Nagpur Railway	0	0	0	0	19
*	**Railways Range**	**0**	**0**	**0**	**8**	**259**
38	Nagpur Commr.	9	0	1	60	463
39	Pune Commr.	19	0	5	112	889
40	Thane Commr.	13	0	0	79	466
41	Mumbai Commr.	47	0	23	251	1123
42	Nasik Commr.	6	0	1	28	160
43	Aurangabad Commr.	3	0	0	31	194
44	Solapur Commr.	0	0	0	15	48
45	Navi Mumbai	9	0	6	17	207
46	Amravati Commr.	2	0	0	5	40
*	**Total of Commrs.**	**108**	**0**	**36**	**598**	**3590**
**	**Total**	**199**	**0**	**42**	**1245**	**7123**

तक्ता क्र. ५६

सन २०१५ मधील विविध शीर्ष- निहाय विशेष व स्थानिक कायदयाखालील ताब्यात घेतलेले विधीसंघर्षग्रस्त बाल (घटक-निहाय)

TABLE NO. 56

Juvenile In Conflict With Law Apprehended Under Different SLL Offences During 2015 (Unit-Wise)

Sr. No.	Unit	Arms Act, 1959	Narcotic Drugs & Psychotropic Substances Act, 1985	Gambling Act, 1867	Excise Act, 1944	Prohibition Act	Explosives & Explosive Substances Act, 1884 & 1908	Immoral Traffic (Prevention) Act, 1956	
								Immoral Traffic (Prevention) Act,1956 (Total)	Under Section 5
1	2	3	4	5	6	7	8	9	10
1	Akola	0	0	6	0	6	0	0	0
2	Amravati Rural	0	0	0	0	0	0	0	0
3	Buldhana	0	0	1	0	0	0	0	0
4	Yavatmal	1	0	0	0	8	0	0	0
5	Washim	0	0	0	0	0	0	0	0
*	**Amaravati Range**	**1**	**0**	**7**	**0**	**14**	**0**	**0**	**0**
6	Aurangabad Rural	0	0	6	0	0	0	0	0
7	Jalna	0	0	4	0	3	0	0	0
8	Beed	0	0	0	0	0	0	0	0
9	Osmanabad	0	1	0	0	2	0	0	0
*	**A'bad Range**	**0**	**1**	**10**	**0**	**5**	**0**	**0**	**0**
10	Nanded	1	0	1	0	0	0	1	0
11	Latur	0	0	0	0	0	0	0	0
12	Parbhani	0	0	0	0	2	0	0	0
13	Hingoli	1	1	0	0	1	0	0	0
*	**Nanded Range**	**2**	**1**	**1**	**0**	**3**	**0**	**1**	**0**
14	Kolhapur	0	0	0	0	0	0	0	0
15	Pune Rural	1	0	0	0	1	0	0	0
16	Sangli	1	0	0	0	1	0	0	0
17	Satara	2	0	0	0	2	0	0	0
18	Solapur Rural	0	0	2	0	0	0	0	0
*	**Kolhapur Range**	**4**	**0**	**2**	**0**	**4**	**0**	**0**	**0**
19	Bhandara	0	0	0	0	2	0	0	0
20	Chandrapur	0	0	4	0	11	0	0	0
21	Nagpur Rural	0	0	2	0	0	0	0	0
22	Wardha	0	0	0	0	0	0	0	0
*	**Nagpur Range**	**0**	**0**	**6**	**0**	**13**	**0**	**0**	**0**
23	Gadchiroli	0	0	0	0	0	0	0	0
24	Gondia	0	0	0	0	0	0	0	0
*	**Gadchiroli Range**	**0**	**0**	**0**	**0**	**0**	**0**	**0**	**0**
25	Ahmednagar	0	0	0	0	0	0	0	0
26	Dhule	2	0	0	0	0	0	0	0
27	Jalgaon	0	0	0	0	0	0	0	0
28	Nasik Rural	0	0	0	0	0	0	0	0
29	Nandurbar	0	0	0	0	0	0	0	0
*	**Nasik Range**	**2**	**0**	**0**	**0**	**0**	**0**	**0**	**0**
30	Raigad	0	0	0	0	0	0	0	0
31	Ratnagiri	2	0	0	0	0	0	0	0
32	Sindhudurg	0	0	0	0	0	0	0	0
33	Thane Rural	0	0	0	0	0	0	0	0
34	Palghar	0	0	0	0	0	0	0	0
*	**Thane Range**	**2**	**0**	**0**	**0**	**0**	**0**	**0**	**0**
35	Mumbai Railway	0	0	0	0	0	0	0	0
36	Pune Railway	0	0	0	0	0	0	0	0
37	Nagpur Railway	0	0	0	0	0	0	0	0
*	**Railways Range**	**0**	**0**	**0**	**0**	**0**	**0**	**0**	**0**
38	Nagpur Commr.	2	0	2	0	1	0	0	0
39	Pune Commr.	0	1	0	0	0	0	0	0
40	Thane Commr.	0	1	0	0	0	0	0	0
41	Mumbai Commr.	3	27	2	0	1	0	0	0
42	Nasik Commr.	0	0	1	0	0	1	0	0
43	Aurangabad Commr.	0	0	0	0	0	0	0	0
44	Solapur Commr.	0	0	0	0	0	0	0	0
45	Navi Mumbai	0	0	0	0	0	0	0	0
46	Amravati Commr.	0	0	0	0	0	0	0	0
*	**Total of Commrs.**	**5**	**29**	**5**	**0**	**2**	**1**	**0**	**0**
**	**Total**	**16**	**31**	**31**	**0**	**41**	**1**	**1**	**0**

तक्ता क्र. ५६ (चालू)

TABLE NO. 56 (Continued)

Sr. No.	Unit	Immoral Traffic (Prevention) Act,1956				Indian Rly Act, 1989	Registration Of Foreigners Act, 1939	Protection Of Civil Rights Act, 1955			
		Under Section 5	Under Section 7	Under Section 8	Others			Protection Of Civil Rights Act, 1955 (Total)	For Crimes Committed Against SCs	For Crimes Committed Against STs	For Crimes Committed Against Others
1	2	11	12	13	14	15	16	17	18	19	20
1	Akola	0	0	0	0	0	0	0	0	0	0
2	Amravati Rural	0	0	0	0	0	0	0	0	0	0
3	Buldhana	0	0	0	0	0	0	0	0	0	0
4	Yavatmal	0	0	0	0	0	0	0	0	0	0
5	Washim	0	0	0	0	0	0	0	0	0	0
*	**Amaravati Range**	**0**	**0**	**0**	**0**	**0**	**0**	**0**	**0**	**0**	**0**
6	Aurangabad Rural	0	0	0	0	0	0	0	0	0	0
7	Jalna	0	0	0	0	0	0	0	0	0	0
8	Beed	0	0	0	0	0	0	0	0	0	0
9	Osmanabad	0	0	0	0	0	0	0	0	0	0
*	**A'bad Range**	**0**	**0**	**0**	**0**	**0**	**0**	**0**	**0**	**0**	**0**
10	Nanded	0	0	0	1	0	0	0	0	0	0
11	Latur	0	0	0	0	0	0	0	0	0	0
12	Parbhani	0	0	0	0	0	0	0	0	0	0
13	Hingoli	0	0	0	0	0	0	0	0	0	0
*	**Nanded Range**	**0**	**0**	**0**	**1**	**0**	**0**	**0**	**0**	**0**	**0**
14	Kolhapur	0	0	0	0	0	0	0	0	0	0
15	Pune Rural	0	0	0	0	0	0	0	0	0	0
16	Sangli	0	0	0	0	0	0	0	0	0	0
17	Satara	0	0	0	0	0	0	0	0	0	0
18	Solapur Rural	0	0	0	0	0	0	0	0	0	0
*	**Kolhapur Range**	**0**	**0**	**0**	**0**	**0**	**0**	**0**	**0**	**0**	**0**
19	Bhandara	0	0	0	0	0	0	0	0	0	0
20	Chandrapur	0	0	0	0	0	0	0	0	0	0
21	Nagpur Rural	0	0	0	0	0	0	0	0	0	0
22	Wardha	0	0	0	0	0	0	0	0	0	0
*	**Nagpur Range**	**0**	**0**	**0**	**0**	**0**	**0**	**0**	**0**	**0**	**0**
23	Gadchiroli	0	0	0	0	0	0	0	0	0	0
24	Gondia	0	0	0	0	0	0	0	0	0	0
*	**Gadchiroli Range**	**0**	**0**	**0**	**0**	**0**	**0**	**0**	**0**	**0**	**0**
25	Ahmednagar	0	0	0	0	0	0	0	0	0	0
26	Dhule	0	0	0	0	0	0	0	0	0	0
27	Jalgaon	0	0	0	0	0	0	0	0	0	0
28	Nasik Rural	0	0	0	0	0	0	0	0	0	0
29	Nandurbar	0	0	0	0	0	0	0	0	0	0
*	**Nasik Range**	**0**	**0**	**0**	**0**	**0**	**0**	**0**	**0**	**0**	**0**
30	Raigad	0	0	0	0	0	0	0	0	0	0
31	Ratnagiri	0	0	0	0	0	0	0	0	0	0
32	Sindhudurg	0	0	0	0	2	0	0	0	0	0
33	Thane Rural	0	0	0	0	0	0	0	0	0	0
34	Palghar	0	0	0	0	0	0	0	0	0	0
*	**Thane Range**	**0**	**0**	**0**	**0**	**2**	**0**	**0**	**0**	**0**	**0**
35	Mumbai Railway	0	0	0	0	0	0	0	0	0	0
36	Pune Railway	0	0	0	0	0	0	0	0	0	0
37	Nagpur Railway	0	0	0	0	0	0	0	0	0	0
*	**Railways Range**	**0**	**0**	**0**	**0**	**0**	**0**	**0**	**0**	**0**	**0**
38	Nagpur Commr.	0	0	0	0	0	0	0	0	0	0
39	Pune Commr.	0	0	0	0	0	0	0	0	0	0
40	Thane Commr.	0	0	0	0	0	0	0	0	0	0
41	Mumbai Commr.	0	0	0	0	0	0	0	0	0	0
42	Nasik Commr.	0	0	0	0	0	0	0	0	0	0
43	Aurangabad Commr.	0	0	0	0	0	0	0	0	0	0
44	Solapur Commr.	0	0	0	0	0	0	0	0	0	0
45	Navi Mumbai	0	0	0	0	0	0	0	0	0	0
46	Amravati Commr.	0	0	0	0	0	0	0	0	0	0
*	**Total of Commrs.**	**0**	**0**	**0**	**0**	**0**	**0**	**0**	**0**	**0**	**0**
**	**Total**	**0**	**0**	**0**	**1**	**2**	**0**	**0**	**0**	**0**	**0**

तक्ता क्र. ५६ (चालू)

TABLE NO. 56 (Continued)

Sr. No.	Unit	Passport Act, 1967	Essential Commodities Act, 1955	Antiquities & Art Treasures Act, 1972	Dowry Prohibition Act, 1961	Indecent Representation Of Women (Prohibition) Act, 1986	Copyright Act, 1957	POCSO Act	SC/ST (Prevention Of Atrocities) Act, 1989		
									SC/ST (Prevention Of Atrocities) Act, 1989	for Crimes Committed Against SCs	For Crimes Committed Against STs
1	2	21	22	23	24	25	26	27	28	29	30
1	Akola	0	0	0	0	0	0	0	0	0	0
2	Amravati Rural	0	0	0	0	0	0	0	0	0	0
3	Buldhana	0	0	0	0	0	0	0	0	0	0
4	Yavatmal	0	0	0	0	0	0	0	0	0	0
5	Washim	0	0	0	0	0	0	0	0	0	0
*	**Amaravati Range**	**0**	**0**	**0**	**0**	**0**	**0**	**0**	**0**	**0**	**0**
6	Aurangabad Rural	0	0	0	0	0	0	0	0	0	0
7	Jalna	0	0	0	0	0	0	0	0	0	0
8	Beed	0	0	0	0	0	0	0	0	0	0
9	Osmanabad	0	0	0	0	0	0	0	6	6	0
*	**A'bad Range**	**0**	**0**	**0**	**0**	**0**	**0**	**0**	**6**	**6**	**0**
10	Nanded	0	1	0	0	0	0	0	0	0	0
11	Latur	0	0	0	0	0	0	0	0	0	0
12	Parbhani	0	0	0	0	0	0	0	0	0	0
13	Hingoli	0	0	0	0	0	0	0	0	0	0
*	**Nanded Range**	**0**	**1**	**0**	**0**	**0**	**0**	**0**	**0**	**0**	**0**
14	Kolhapur	0	0	0	0	0	0	0	0	0	0
15	Pune Rural	0	0	0	0	0	0	1	0	0	0
16	Sangli	0	0	0	0	0	0	0	0	0	0
17	Satara	0	0	0	0	0	0	0	0	0	0
18	Solapur Rural	0	0	0	0	0	0	0	0	0	0
*	**Kolhapur Range**	**0**	**0**	**0**	**0**	**0**	**0**	**1**	**0**	**0**	**0**
19	Bhandara	0	0	0	0	0	0	0	0	0	0
20	Chandrapur	0	0	0	0	0	0	0	0	0	0
21	Nagpur Rural	0	0	0	0	0	0	0	0	0	0
22	Wardha	0	0	0	0	0	0	0	0	0	0
*	**Nagpur Range**	**0**	**0**	**0**	**0**	**0**	**0**	**0**	**0**	**0**	**0**
23	Gadchiroli	0	0	0	0	0	0	0	0	0	0
24	Gondia	0	0	0	0	0	0	0	0	0	0
*	**Gadchiroli Range**	**0**	**0**	**0**	**0**	**0**	**0**	**0**	**0**	**0**	**0**
25	Ahmednagar	0	0	0	0	0	0	0	0	0	0
26	Dhule	0	0	0	0	0	0	0	0	0	0
27	Jalgaon	0	0	0	0	0	0	0	0	0	0
28	Nasik Rural	0	0	0	0	0	0	0	0	0	0
29	Nandurbar	0	0	0	0	0	0	0	0	0	0
*	**Nasik Range**	**0**	**0**	**0**	**0**	**0**	**0**	**0**	**0**	**0**	**0**
30	Raigad	0	0	0	0	0	0	0	0	0	0
31	Ratnagiri	0	0	0	0	0	0	0	0	0	0
32	Sindhudurg	0	0	0	0	0	0	0	0	0	0
33	Thane Rural	0	0	0	0	0	0	0	0	0	0
34	Palghar	0	0	0	0	0	0	0	0	0	0
*	**Thane Range**	**0**	**0**	**0**	**0**	**0**	**0**	**0**	**0**	**0**	**0**
35	Mumbai Railway	0	0	0	0	0	0	0	0	0	0
36	Pune Railway	0	0	0	0	0	0	0	0	0	0
37	Nagpur Railway	0	0	0	0	0	0	0	0	0	0
*	**Railways Range**	**0**	**0**	**0**	**0**	**0**	**0**	**0**	**0**	**0**	**0**
38	Nagpur Commr.	1	0	0	0	0	0	0	0	0	0
39	Pune Commr.	0	0	0	0	0	0	0	1	1	0
40	Thane Commr.	0	0	0	0	0	0	0	0	0	0
41	Mumbai Commr.	0	0	0	0	0	4	0	0	0	0
42	Nasik Commr.	0	1	0	0	0	0	0	0	0	0
43	Aurangabad Commr.	0	0	0	0	0	0	0	0	0	0
44	Solapur Commr.	0	0	0	0	0	0	0	0	0	0
45	Navi Mumbai	0	0	0	0	0	0	0	0	0	0
46	Amravati Commr.	0	0	0	0	0	0	0	0	0	0
*	**Total of Commrs.**	**1**	**1**	**0**	**0**	**0**	**4**	**0**	**1**	**1**	**0**
**	**Total**	**1**	**2**	**0**	**0**	**0**	**4**	**1**	**7**	**7**	**0**

तक्ता क्र. ५६ (चालू)

TABLE NO. 56 (Continued)

Sr. No.	Unit	Forest Act, 1927	Prohibition Of Child Marriage Act, 2006	Protection Of Women From Domestic Violence Act, 2005	Information Technology Act, 2000	Official Secrets Act, 1923	Electricity Act, 2003	Wildlife Protection Act, 1972	Bonded Labour System (Abolition) Act, 1976			
									Bonded Labour System (Abolition) Act, 1976 (Total)	Against SC	Against ST	Against Others
1	2	31	32	33	34	35	36	37	38	39	40	41
1	Akola	0	0	0	0	0	0	0	0	0	0	0
2	Amravati Rural	0	0	0	0	0	0	0	0	0	0	0
3	Buldhana	0	0	0	0	0	0	0	0	0	0	0
4	Yavatmal	0	0	0	0	0	0	0	0	0	0	0
5	Washim	0	0	0	0	0	0	0	0	0	0	0
*	**Amaravati Range**	**0**	**0**	**0**	**0**	**0**	**0**	**0**	**0**	**0**	**0**	**0**
6	Aurangabad Rural	0	0	0	0	0	0	0	0	0	0	0
7	Jalna	0	0	0	0	0	0	0	0	0	0	0
8	Beed	0	0	0	0	0	0	0	0	0	0	0
9	Osmanabad	0	0	0	0	0	0	0	0	0	0	0
*	**A'bad Range**	**0**	**0**	**0**	**0**	**0**	**0**	**0**	**0**	**0**	**0**	**0**
10	Nanded	0	0	0	4	0	0	0	0	0	0	0
11	Latur	0	0	0	0	0	0	0	0	0	0	0
12	Parbhani	0	0	0	0	0	0	0	0	0	0	0
13	Hingoli	0	0	0	0	0	0	0	0	0	0	0
*	**Nanded Range**	**0**	**0**	**0**	**4**	**0**	**0**	**0**	**0**	**0**	**0**	**0**
14	Kolhapur	0	0	0	0	0	0	0	0	0	0	0
15	Pune Rural	0	0	0	0	0	0	0	0	0	0	0
16	Sangli	0	0	0	0	0	0	0	0	0	0	0
17	Satara	0	0	0	1	0	0	0	0	0	0	0
18	Solapur Rural	0	0	0	0	0	0	0	0	0	0	0
*	**Kolhapur Range**	**0**	**0**	**0**	**1**	**0**	**0**	**0**	**0**	**0**	**0**	**0**
19	Bhandara	0	0	0	0	0	0	0	0	0	0	0
20	Chandrapur	0	0	0	0	0	0	0	0	0	0	0
21	Nagpur Rural	0	0	0	0	0	0	0	0	0	0	0
22	Wardha	0	0	0	0	0	0	0	0	0	0	0
*	**Nagpur Range**	**0**	**0**	**0**	**0**	**0**	**0**	**0**	**0**	**0**	**0**	**0**
23	Gadchiroli	0	0	0	0	0	0	0	0	0	0	0
24	Gondia	0	0	0	0	0	0	0	0	0	0	0
*	**Gadchiroli Range**	**0**	**0**	**0**	**0**	**0**	**0**	**0**	**0**	**0**	**0**	**0**
25	Ahmednagar	0	0	0	0	0	0	0	0	0	0	0
26	Dhule	0	0	0	0	0	0	0	0	0	0	0
27	Jalgaon	0	0	0	2	0	1	0	0	0	0	0
28	Nasik Rural	0	0	0	0	0	0	0	0	0	0	0
29	Nandurbar	0	0	0	0	0	0	0	0	0	0	0
*	**Nasik Range**	**0**	**0**	**0**	**2**	**0**	**1**	**0**	**0**	**0**	**0**	**0**
30	Raigad	0	0	0	0	0	0	0	0	0	0	0
31	Ratnagiri	0	0	0	0	0	0	0	0	0	0	0
32	Sindhudurg	0	0	0	0	0	0	0	0	0	0	0
33	Thane Rural	0	0	0	0	0	0	0	0	0	0	0
34	Palghar	0	0	0	0	0	0	0	0	0	0	0
*	**Thane Range**	**0**	**0**	**0**	**0**	**0**	**0**	**0**	**0**	**0**	**0**	**0**
35	Mumbai Railway	0	0	0	0	0	0	0	0	0	0	0
36	Pune Railway	0	0	0	0	0	0	0	0	0	0	0
37	Nagpur Railway	0	0	0	0	0	0	0	0	0	0	0
*	**Railways Range**	**0**	**0**	**0**	**0**	**0**	**0**	**0**	**0**	**0**	**0**	**0**
38	Nagpur Commr.	0	0	0	0	0	0	0	0	0	0	0
39	Pune Commr.	0	0	0	0	0	0	0	0	0	0	0
40	Thane Commr.	0	0	0	0	0	0	0	0	0	0	0
41	Mumbai Commr.	0	0	0	0	0	2	0	0	0	0	0
42	Nasik Commr.	0	0	0	0	0	0	0	0	0	0	0
43	Aurangabad Commr.	0	0	0	0	0	0	0	0	0	0	0
44	Solapur Commr.	0	0	0	0	0	0	0	0	0	0	0
45	Navi Mumbai	0	0	0	0	0	0	0	0	0	0	0
46	Amravati Commr.	0	0	0	0	0	0	0	0	0	0	0
*	**Total of Commrs.**	**0**	**0**	**0**	**0**	**0**	**2**	**0**	**0**	**0**	**0**	**0**
**	**Total**	**0**	**0**	**0**	**7**	**0**	**3**	**0**	**0**	**0**	**0**	**0**

तक्ता क्र. ५६ (चालू)

TABLE NO. 56 (Continued)

Sr. No.	Unit	Environmental Protection Act, 1986	Air (Prevention & Control of Pollution) Act, 1981	Water (Prevention & Control of Pollution) Act	National Security Act, 1980	Unlawful Activities (Prevention) Act, 1967	Young Persons (Harmful Publications) Act, 1956	Railway Property (Unlawful Possession) Act, 1966	Prevention of Damage To Public Property Act, 1984	Transplantation of Human Organs Act, 1994	Trade Marks Act, 1999	Prevention of Insults To National Honour Act, 1971
1	2	42	43	44	45	46	47	48	49	50	51	52
1	Akola	0	0	0	0	0	0	0	0	0	0	0
2	Amravati Rural	0	0	0	0	0	0	0	0	0	0	0
3	Buldhana	0	0	0	0	0	0	0	0	0	0	0
4	Yavatmal	0	0	0	0	0	0	0	0	0	0	0
5	Washim	0	0	0	0	0	0	0	0	0	0	0
*	**Amaravati Range**	**0**	**0**	**0**	**0**	**0**	**0**	**0**	**0**	**0**	**0**	**0**
6	Aurangabad Rural	0	0	0	0	0	0	0	0	0	0	0
7	Jalna	0	0	0	0	0	0	0	0	0	0	0
8	Beed	0	0	0	0	0	0	0	0	0	0	0
9	Osmanabad	0	0	0	0	0	0	0	0	0	0	0
*	**A'bad Range**	**0**	**0**	**0**	**0**	**0**	**0**	**0**	**0**	**0**	**0**	**0**
10	Nanded	0	0	0	0	0	0	0	0	0	0	0
11	Latur	0	0	0	0	0	0	0	0	0	0	0
12	Parbhani	0	0	0	0	0	0	0	0	0	0	0
13	Hingoli	0	0	0	0	0	0	0	0	0	0	0
*	**Nanded Range**	**0**	**0**	**0**	**0**	**0**	**0**	**0**	**0**	**0**	**0**	**0**
14	Kolhapur	0	0	0	0	0	0	0	0	0	0	0
15	Pune Rural	0	0	0	0	0	0	0	0	0	0	0
16	Sangli	0	0	0	0	0	0	0	0	0	0	0
17	Satara	0	0	0	0	0	0	0	0	0	0	0
18	Solapur Rural	0	0	0	0	0	0	0	0	0	0	0
*	**Kolhapur Range**	**0**	**0**	**0**	**0**	**0**	**0**	**0**	**0**	**0**	**0**	**0**
19	Bhandara	0	0	0	0	0	0	0	0	0	0	0
20	Chandrapur	0	0	0	0	0	0	0	0	0	0	0
21	Nagpur Rural	0	0	0	0	0	0	0	0	0	0	0
22	Wardha	0	0	0	0	0	0	0	0	0	0	0
*	**Nagpur Range**	**0**	**0**	**0**	**0**	**0**	**0**	**0**	**0**	**0**	**0**	**0**
23	Gadchiroli	0	0	0	0	0	0	0	0	0	0	0
24	Gondia	0	0	0	0	0	0	0	0	0	0	0
*	**Gadchiroli Range**	**0**	**0**	**0**	**0**	**0**	**0**	**0**	**0**	**0**	**0**	**0**
25	Ahmednagar	0	0	0	0	0	0	0	0	0	0	0
26	Dhule	0	0	0	0	0	0	0	0	0	0	0
27	Jalgaon	0	0	0	0	0	0	0	0	0	0	0
28	Nasik Rural	0	0	0	0	0	0	0	0	0	0	0
29	Nandurbar	0	0	0	0	0	0	0	0	0	0	0
*	**Nasik Range**	**0**	**0**	**0**	**0**	**0**	**0**	**0**	**0**	**0**	**0**	**0**
30	Raigad	0	0	0	0	0	0	0	0	0	0	0
31	Ratnagiri	0	0	0	0	0	0	0	0	0	0	0
32	Sindhudurg	0	0	0	0	0	0	0	0	0	0	0
33	Thane Rural	0	0	0	0	0	0	0	0	0	0	0
34	Palghar	0	0	0	0	0	0	0	0	0	0	0
*	**Thane Range**	**0**	**0**	**0**	**0**	**0**	**0**	**0**	**0**	**0**	**0**	**0**
35	Mumbai Railway	0	0	0	0	0	0	0	0	0	0	0
36	Pune Railway	0	0	0	0	0	0	0	0	0	0	0
37	Nagpur Railway	0	0	0	0	0	0	0	0	0	0	0
*	**Railways Range**	**0**	**0**	**0**	**0**	**0**	**0**	**0**	**0**	**0**	**0**	**0**
38	Nagpur Commr.	0	0	0	0	0	0	0	0	0	0	0
39	Pune Commr.	0	0	0	0	0	0	0	0	0	0	0
40	Thane Commr.	0	0	0	0	0	0	0	0	0	0	0
41	Mumbai Commr.	0	0	0	0	0	0	0	0	0	0	0
42	Nasik Commr.	0	0	0	0	0	0	0	0	0	0	0
43	Aurangabad Commr.	0	0	0	0	0	0	0	0	0	0	0
44	Solapur Commr.	0	0	0	0	0	0	0	0	0	0	0
45	Navi Mumbai	0	0	0	0	0	0	0	0	0	0	0
46	Amravati Commr.	0	0	0	0	0	0	0	0	0	0	0
*	**Total of Commrs.**	**0**	**0**	**0**	**0**	**0**	**0**	**0**	**0**	**0**	**0**	**0**
**	**Total**	**0**	**0**	**0**	**0**	**0**	**0**	**0**	**0**	**0**	**0**	**0**

तक्ता क्र. ५६ (चालू)

TABLE NO. 56 (Continued)

Sr. No.	Unit	State Emblem Of India (Prohibition Of Improper Use) Act, 2005	Lotteries (Regulation) Act, 1998	Citizenship Act, 1955	Foreigners Act, 1946	Place Of Worship (Special Provisions) Act, 1991	Religious Institution (Prevention Of Misuse) Act, 1988	Representation of the People Act, 1951 (As Amended in 2010)	Emigration Act, 1983	Juvenile Justice (Care And Protection Of Children) Act, 2000	Infant Milk Substitutes, Feeding Bottles And Infant Foods (Regulation Of Production, Supply And Distribution) Amendment Act, 2003	Anti Hijacking Act, 1982
(1)	(2)	(53)	(54)	(55)	(56)	(57)	(58)	(59)	(60)	(61)	(62)	(63)
1	Akola	0	0	0	0	0	0	0	0	0	0	0
2	Amravati Rural	0	0	0	0	0	0	0	0	0	0	0
3	Buldhana	0	0	0	0	0	0	0	0	0	0	0
4	Yavatmal	0	0	0	0	0	0	0	0	0	0	0
5	Washim	0	0	0	0	0	0	0	0	0	0	0
*	**Amaravati Range**	**0**	**0**	**0**	**0**	**0**	**0**	**0**	**0**	**0**	**0**	**0**
6	Aurangabad Rural	0	0	0	0	0	0	0	0	0	0	0
7	Jalna	0	0	0	0	0	0	0	0	0	0	0
8	Beed	0	0	0	0	0	0	0	0	0	0	0
9	Osmanabad	0	0	0	0	0	0	0	0	0	0	0
*	**A'bad Range**	**0**	**0**	**0**	**0**	**0**	**0**	**0**	**0**	**0**	**0**	**0**
10	Nanded	0	0	0	0	0	0	0	0	0	0	0
11	Latur	0	0	0	0	0	0	0	0	0	0	0
12	Parbhani	0	0	0	0	0	0	0	0	0	0	0
13	Hingoli	0	0	0	0	0	0	0	0	0	0	0
*	**Nanded Range**	**0**	**0**	**0**	**0**	**0**	**0**	**0**	**0**	**0**	**0**	**0**
14	Kolhapur	0	0	0	0	0	0	0	0	0	0	0
15	Pune Rural	0	0	0	0	0	0	0	0	0	0	0
16	Sangli	0	0	0	0	0	0	0	0	0	0	0
17	Satara	0	0	0	0	0	0	0	0	0	0	0
18	Solapur Rural	0	0	0	0	0	0	0	0	0	0	0
*	**Kolhapur Range**	**0**	**0**	**0**	**0**	**0**	**0**	**0**	**0**	**0**	**0**	**0**
19	Bhandara	0	0	0	0	0	0	0	0	0	0	0
20	Chandrapur	0	0	0	0	0	0	0	0	0	0	0
21	Nagpur Rural	0	0	0	0	0	0	0	0	0	0	0
22	Wardha	0	0	0	0	0	0	0	0	0	0	0
*	**Nagpur Range**	**0**	**0**	**0**	**0**	**0**	**0**	**0**	**0**	**0**	**0**	**0**
23	Gadchiroli	0	0	0	0	0	0	0	0	0	0	0
24	Gondia	0	0	0	0	0	0	0	0	0	0	0
*	**Gadchiroli Range**	**0**	**0**	**0**	**0**	**0**	**0**	**0**	**0**	**0**	**0**	**0**
25	Ahmednagar	0	0	0	0	0	0	0	0	0	0	0
26	Dhule	0	0	0	0	0	0	0	0	0	0	0
27	Jalgaon	0	0	0	0	0	0	0	0	0	0	0
28	Nasik Rural	0	0	0	0	0	0	0	0	0	0	0
29	Nandurbar	0	0	0	0	0	0	0	0	0	0	0
*	**Nasik Range**	**0**	**0**	**0**	**0**	**0**	**0**	**0**	**0**	**0**	**0**	**0**
30	Raigad	0	0	0	0	0	0	0	0	0	0	0
31	Ratnagiri	0	0	0	0	0	0	0	0	0	0	0
32	Sindhudurg	0	0	0	0	0	0	0	0	0	0	0
33	Thane Rural	0	0	0	0	0	0	0	0	0	0	0
34	Palghar	0	0	0	0	0	0	0	0	0	0	0
*	**Thane Range**	**0**	**0**	**0**	**0**	**0**	**0**	**0**	**0**	**0**	**0**	**0**
35	Mumbai Railway	0	0	0	0	0	0	0	0	0	0	0
36	Pune Railway	0	0	0	0	0	0	0	0	0	0	0
37	Nagpur Railway	0	0	0	0	0	0	0	0	0	0	0
*	**Railways Range**	**0**	**0**	**0**	**0**	**0**	**0**	**0**	**0**	**0**	**0**	**0**
38	Nagpur Commr.	0	0	0	0	0	0	0	0	0	0	0
39	Pune Commr.	0	0	0	0	0	0	0	0	0	0	0
40	Thane Commr.	0	0	0	0	0	0	0	0	0	0	0
41	Mumbai Commr.	0	0	0	0	0	0	0	0	6	0	0
42	Nasik Commr.	0	0	0	0	0	0	0	0	0	0	0
43	Aurangabad Commr.	0	0	0	0	0	0	0	0	0	0	0
44	Solapur Commr.	0	0	0	0	0	0	0	0	0	0	0
45	Navi Mumbai	0	0	0	0	0	0	0	0	0	0	0
46	Amravati Commr.	0	0	0	0	0	0	0	0	0	0	0
*	**Total of Commrs.**	**0**	**0**	**0**	**0**	**0**	**0**	**0**	**0**	**6**	**0**	**0**
**	**Total**	**0**	**0**	**0**	**0**	**0**	**0**	**0**	**0**	**6**	**0**	**0**

तक्ता क्र. ५६ (पूर्ण)

TABLE NO. 56 (Concluded)

Sr. No.	Unit	Atomic Energy Act, 1962	Weapons Of Mass Destruction And Their Delivery Systems (Prohibition Of Unlawful Activities) Act, 2005	Suppression Of Unlawful Acts Against Safety Of Civil Aviation Act, 1982	Safety of Maritime Navigation Act, 2002	The Employment Of Manual Scavengers And Construction Of Dry Latrines (Prohibition) Act, 1993	Pre-Natal Diagnostic Techniques (Regulation And Prevention Of Misuse) Act, 1994	The Maritime Zones Of India (Regulation Of Fishing By Foreign Vessels) Act, 1981	Other SLL Crimes	Total Cognizable SLL Crimes
(1)	(2)	(64)	(65)	(66)	(67)	(68)	(69)	(70)	(71)	(72)
1	Akola	0	0	0	0	0	0	0	2	14
2	Amravati Rural	0	0	0	0	0	0	0	0	0
3	Buldhana	0	0	0	0	0	0	0	1	2
4	Yavatmal	0	0	0	0	0	0	0	0	9
5	Washim	0	0	0	0	0	0	0	0	0
*	**Amaravati Range**	**0**	**0**	**0**	**0**	**0**	**0**	**0**	**3**	**25**
6	Aurangabad Rural	0	0	0	0	0	0	0	0	6
7	Jalna	0	0	0	0	0	0	0	0	7
8	Beed	0	0	0	0	0	0	0	0	0
9	Osmanabad	0	0	0	0	0	0	0	2	11
*	**A'bad Range**	**0**	**0**	**0**	**0**	**0**	**0**	**0**	**2**	**24**
10	Nanded	0	0	0	0	0	0	0	16	24
11	Latur	0	0	0	0	0	0	0	0	0
12	Parbhani	0	0	0	0	0	0	0	0	2
13	Hingoli	0	0	0	0	0	0	0	1	4
*	**Nanded Range**	**0**	**0**	**0**	**0**	**0**	**0**	**0**	**17**	**30**
14	Kolhapur	0	0	0	0	0	0	0	3	3
15	Pune Rural	0	0	0	0	0	0	0	1	4
16	Sangli	0	0	0	0	0	0	0	0	2
17	Satara	0	0	0	0	0	0	0	0	5
18	Solapur Rural	0	0	0	0	0	0	0	0	2
*	**Kolhapur Range**	**0**	**0**	**0**	**0**	**0**	**0**	**0**	**4**	**16**
19	Bhandara	0	0	0	0	0	0	0	0	2
20	Chandrapur	0	0	0	0	0	0	0	0	15
21	Nagpur Rural	0	0	0	0	0	0	0	0	2
22	Wardha	0	0	0	0	0	0	0	0	0
*	**Nagpur Range**	**0**	**0**	**0**	**0**	**0**	**0**	**0**	**0**	**19**
23	Gadchiroli	0	0	0	0	0	0	0	0	0
24	Gondia	0	0	0	0	0	0	0	0	0
*	**Gadchiroli Range**	**0**	**0**	**0**	**0**	**0**	**0**	**0**	**0**	**0**
25	Ahmednagar	0	0	0	0	0	0	0	0	0
26	Dhule	0	0	0	0	0	0	0	0	2
27	Jalgaon	0	0	0	0	0	0	0	4	7
28	Nasik Rural	0	0	0	0	0	0	0	1	1
29	Nandurbar	0	0	0	0	0	0	0	0	0
*	**Nasik Range**	**0**	**0**	**0**	**0**	**0**	**0**	**0**	**5**	**10**
30	Raigad	0	0	0	0	0	0	0	0	0
31	Ratnagiri	0	0	0	0	0	0	0	0	2
32	Sindhudurg	0	0	0	0	0	0	0	0	2
33	Thane Rural	0	0	0	0	0	0	0	0	0
34	Palghar	0	0	0	0	0	0	0	0	0
*	**Thane Range**	**0**	**0**	**0**	**0**	**0**	**0**	**0**	**0**	**4**
35	Mumbai Railway	0	0	0	0	0	0	0	3	3
36	Pune Railway	0	0	0	0	0	0	0	0	0
37	Nagpur Railway	0	0	0	0	0	0	0	0	0
*	**Railways Range**	**0**	**0**	**0**	**0**	**0**	**0**	**0**	**3**	**3**
38	Nagpur Commr.	0	0	0	0	0	0	0	5	11
39	Pune Commr.	0	0	0	0	0	0	0	10	12
40	Thane Commr.	0	0	0	0	0	0	0	6	7
41	Mumbai Commr.	0	0	0	0	0	0	0	28	73
42	Nasik Commr.	0	0	0	0	0	0	0	4	7
43	Aurangabad Commr.	0	0	0	0	0	0	0	0	0
44	Solapur Commr.	0	0	0	0	0	0	0	0	0
45	Navi Mumbai	0	0	0	0	0	0	0	3	3
46	Amravati Commr.	0	0	0	0	0	0	0	3	3
*	**Total of Commrs.**	**0**	**0**	**0**	**0**	**0**	**0**	**0**	**59**	**116**
**	**Total**	**0**	**0**	**0**	**0**	**0**	**0**	**0**	**93**	**247**

तक्ता क्र. ५७

सन २०१५ मधील भादंविच्या गुन्हयात ताब्यात घेतलेले विधीसंघर्षग्रस्त बाल (वय, लिंग व घटक निहाय)

TABLE NO. 57

Juvenile In Conflict With Law Apprehended Under IPC Offences As Per Age Group And Sex During 2015(Unit- Wise)

Sr. No.	Unit	Below 12 Years		12 yrs & Above – Below 16 years		16 yrs & Above – Below 18 years		OVER ALL AGE GROUP		TOTAL Boys & Girls
		Boys	Girsl	Boys	Girsl	Boys	Girsl	Boys	Girsl	
1	2	3	4	5	6	7	8	9	10	11
1	Akola	0	0	18	3	121	2	139	5	144
2	Amravati Rural	0	0	0	0	212	7	212	7	219
3	Buldhana	1	0	31	6	71	8	103	14	117
4	Yavatmal	3	0	14	0	53	1	70	1	71
5	Washim	0	0	6	3	26	1	32	4	36
*	**Amaravati Range**	**4**	**0**	**69**	**12**	**483**	**19**	**556**	**31**	**587**
6	Aurangabad Rural	1	0	26	3	50	2	77	5	82
7	Jalna	0	0	22	0	61	0	83	0	83
8	Beed	0	0	30	0	82	3	112	3	115
9	Osmanabad	0	0	24	3	94	2	118	5	123
*	**A'bad Range**	**1**	**0**	**102**	**6**	**287**	**7**	**390**	**13**	**403**
10	Nanded	0	0	36	3	112	4	148	7	155
11	Latur	0	0	18	0	33	3	51	3	54
12	Parbhani	1	0	44	3	66	2	111	5	116
13	Hingoli	1	0	17	1	27	0	45	1	46
*	**Nanded Range**	**2**	**0**	**115**	**7**	**238**	**9**	**355**	**16**	**371**
14	Kolhapur	0	0	42	3	151	1	193	4	197
15	Pune Rural	6	3	25	0	90	2	121	5	126
16	Sangli	2	1	53	1	107	4	162	6	168
17	Satara	6	0	110	0	162	3	278	3	281
18	Solapur Rural	0	0	31	3	77	5	108	8	116
*	**Kolhapur Range**	**14**	**4**	**261**	**7**	**587**	**15**	**862**	**26**	**888**
19	Bhandara	1	0	33	0	38	2	72	2	74
20	Chandrapur	0	0	7	0	67	1	74	1	75
21	Nagpur Rural	0	0	15	0	46	1	61	1	62
22	Wardha	0	0	5	0	61	0	66	0	66
*	**Nagpur Range**	**1**	**0**	**60**	**0**	**212**	**4**	**273**	**4**	**277**
23	Gadchiroli	1	0	6	1	5	0	12	1	13
24	Gondia	0	0	3	0	72	0	75	0	75
*	**Gadchiroli Range**	**1**	**0**	**9**	**1**	**77**	**0**	**87**	**1**	**88**
25	Ahmednagar	0	0	8	0	39	0	47	0	47
26	Dhule	0	0	6	0	12	0	18	0	18
27	Jalgaon	0	0	10	0	92	11	102	11	113
28	Nasik Rural	0	0	22	1	57	2	79	3	82
29	Nandurbar	0	0	0	0	31	0	31	0	31
*	**Nasik Range**	**0**	**0**	**46**	**1**	**231**	**13**	**277**	**14**	**291**
30	Raigad	0	0	29	2	62	0	91	2	93
31	Ratnagiri	2	0	23	3	32	4	57	7	64
32	Sindhudurg	0	0	0	1	8	0	8	1	9
33	Thane Rural	2	0	24	0	64	0	90	0	90
34	Palghar	3	0	26	0	82	2	111	2	113
*	**Thane Range**	**7**	**0**	**102**	**6**	**248**	**6**	**357**	**12**	**369**
35	Mumbai Railway	9	0	53	14	132	7	194	21	215
36	Pune Railway	0	0	0	0	19	0	19	0	19
37	Nagpur Railway	0	0	0	0	23	2	23	2	25
*	**Railways Range**	**9**	**0**	**53**	**14**	**174**	**9**	**236**	**23**	**259**
38	Nagpur Commr.	21	0	158	4	273	7	452	11	463
39	Pune Commr.	5	3	193	3	677	8	875	14	889
40	Thane Commr.	14	0	180	4	263	5	457	9	466
41	Mumbai Commr.	15	0	340	16	733	19	1088	35	1123
42	Nasik Commr.	9	0	44	0	107	0	160	0	160
43	Aurangabad Commr.	8	0	47	0	138	1	193	1	194
44	Solapur Commr.	0	0	16	0	32	0	48	0	48
45	Navi Mumbai	2	0	24	0	64	0	90	0	90
46	Amravati Commr.	0	0	57	0	149	1	206	1	207
*	**Total of Commrs.**	74	3	1059	27	2436	41	3569	71	3640
**	**Total**	**113**	**7**	**1876**	**81**	**4973**	**123**	**6962**	**211**	**7173**

तक्ता क्र. ५८

सन २०१५ मधील विशेष व स्थानिक कायदयान्वये ताब्यात घेतलेले विधीसंघर्षग्रस्त बाल (वय, लिंग व घटक-निहाय)

TABLE NO. 58

Juvenile In Conflict With Law Apprehended Under SLL Offences As Per Age Group And Sex During 2015 (Unit-Wise)

Sr. No.	Unit	Below 12 Years		12 yrs & Above – Below 16 years		16 yrs & Above – Below 18 years		Over All Age Group		TOTAL Boys & Girls
		Boys	Girls	Boys	Girls	Boys	Girls	Boys	Girls	
1	2	3	4	5	6	7	8	9	10	11
1	Akola	0	0	0	0	14	0	14	0	14
2	Amravati Rural	0	0	0	0	0	0	0	0	0
3	Buldhana	0	0	0	0	2	0	2	0	2
4	Yavatmal	0	0	0	0	9	0	9	0	9
5	Washim	0	0	0	0	0	0	0	0	0
*	**Amaravati Range**	**0**	**0**	**0**	**0**	**25**	**0**	25	0	25
6	Aurangabad Rural	0	0	0	0	6	0	6	0	6
7	Jalna	0	0	0	0	7	0	7	0	7
8	Beed	0	0	0	0	0	0	0	0	0
9	Osmanabad	0	0	2	1	7	1	9	2	11
*	**A'bad Range**	**0**	**0**	**2**	**1**	**20**	**1**	**22**	**2**	**24**
10	Nanded	0	0	0	0	23	1	23	1	24
11	Latur	0	0	0	0	0	0	0	0	0
12	Parbhani	0	0	1	0	1	0	2	0	2
13	Hingoli	2	0	0	0	2	0	4	0	4
*	**Nanded Range**	**2**	**0**	**1**	**0**	**26**	**1**	**29**	**1**	**30**
14	Kolhapur	0	0	0	0	3	0	3	0	3
15	Pune Rural	0	0	1	0	3	0	4	0	4
16	Sangli	0	0	0	0	2	0	2	0	2
17	Satara	0	0	0	0	5	0	5	0	5
18	Solapur Rural	0	0	0	0	2	0	2	0	2
*	**Kolhapur Range**	**0**	**0**	**1**	**0**	**15**	**0**	**16**	**0**	**16**
19	Bhandara	0	0	0	0	2	0	2	0	2
20	Chandrapur	0	0	0	0	15	0	15	0	15
21	Nagpur Rural	0	0	0	0	2	0	2	0	2
22	Wardha	0	0	0	0	0	0	0	0	0
*	**Nagpur Range**	**0**	**0**	**0**	**0**	**19**	**0**	**19**	**0**	**19**
23	Gadchiroli	0	0	0	0	0	0	0	0	0
24	Gondia	0	0	0	0	0	0	0	0	0
*	**Gadchiroli Range**	**0**	**0**	**0**	**0**	**0**	**0**	**0**	**0**	**0**
25	Ahmednagar	0	0	0	0	0	0	0	0	0
26	Dhule	0	0	0	0	2	0	2	0	2
27	Jalgaon	0	0	1	0	6	0	7	0	7
28	Nasik Rural	0	0	0	0	1	0	1	0	1
29	Nandurbar	0	0	0	0	0	0	0	0	0
*	**Nasik Range**	**0**	**0**	**1**	**0**	**9**	**0**	**10**	**0**	**10**
30	Raigad	0	0	0	0	0	0	0	0	0
31	Ratnagiri	0	0	2	0	0	0	2	0	2
32	Sindhudurg	0	0	0	0	2	0	2	0	2
33	Thane Rural	0	0	0	0	0	0	0	0	0
34	Palghar	0	0	0	0	0	0	0	0	0
*	**Thane Range**	**0**	**0**	**2**	**0**	**2**	**0**	**4**	**0**	**4**
35	Mumbai Railway	0	0	0	0	3	0	3	0	3
36	Pune Railway	0	0	0	0	0	0	0	0	0
37	Nagpur Railway	0	0	0	0	0	0	0	0	0
*	**Railways Range**	**0**	**0**	**0**	**0**	**3**	**0**	**3**	**0**	**3**
38	Nagpur Commr.	0	0	1	0	10	0	11	0	11
39	Pune Commr.	0	0	1	0	10	1	11	1	12
40	Thane Commr.	1	0	2	0	4	0	7	0	7
41	Mumbai Commr.	2	0	16	0	55	0	73	0	73
42	Nasik Commr.	0	0	2	0	5	0	7	0	7
43	Aurangabad Commr.	0	0	0	0	0	0	0	0	0
44	Solapur Commr.	0	0	0	0	0	0	0	0	0
45	Navi Mumbai	0	0	2	0	1	0	3	0	3
46	Amravati Commr.	0	0	0	0	3	0	3	0	3
*	**Total of Commrs.**	**3**	**0**	**24**	**0**	**88**	**1**	**115**	**1**	**116**
**	**Total**	**5**	**0**	**31**	**1**	**207**	**3**	**243**	**4**	**247**

तक्ता क्र. ५९

सन २०१५ मध्ये ताब्यात घेतलेल्या विधीसंघर्षग्रस्त बाल यांची निर्गती (भा.दं.वि. व विशेष स्थानिक कायदा) व कोर्टात पाठवणे (घटक-निहाय)

TABLE NO. 59

Disposal Of Apprehended Juvenile In Conflict With Law (Under IPC & SLL Offences) And Sent To Court During 2015 (Unit- Wise)

Sr. No.	Unit	Number of Juveniles whose cases pending disposal at the beginning of the year	Juveniles apprehended during the year	Total number of Juveniles apprehended (Col. 3+4)	Sent To Home After Advice Or Admonition	Released On Probation And Placed Under Care of parents / Gurdians
1	2	3	4	5	6	7
1	Akola	38	158	196	36	88
2	Amravati Rural	80	219	299	83	71
3	Buldhana	49	119	168	0	9
4	Yavatmal	11	80	91	25	24
5	Washim	3	36	39	0	31
*	**Amaravati Range**	**181**	**612**	**793**	**144**	**223**
6	Aurangabad Rural	93	88	181	0	18
7	Jalna	0	90	90	0	70
8	Beed	0	115	115	4	55
9	Osmanabad	258	134	392	0	0
*	**A'bad Range**	**351**	**427**	**778**	**4**	**143**
10	Nanded	0	179	179	179	0
11	Latur	0	54	54	16	26
12	Parbhani	510	118	628	0	510
13	Hingoli	0	50	50	0	37
*	**Nanded Range**	**510**	**401**	**911**	**195**	**573**
14	Kolhapur	25	200	225	24	95
15	Pune Rural	10	130	140	18	27
16	Sangli	10	170	180	32	62
17	Satara	62	286	348	85	0
18	Solapur Rural	0	118	118	0	102
*	**Kolhapur Range**	**107**	**904**	**1011**	**159**	**286**
19	Bhandara	201	76	277	5	23
20	Chandrapur	30	90	120	10	0
21	Nagpur Rural	83	64	147	95	0
22	Wardha	13	66	79	0	68
*	**Nagpur Range**	**327**	**296**	**623**	**110**	**91**
23	Gadchiroli	0	13	13	0	12
24	Gondia	19	75	94	0	51
*	**Gadchiroli Range**	**19**	**88**	**107**	**0**	**63**
25	Ahmednagar	74	47	121	0	0
26	Dhule	0	20	20	0	20
27	Jalgaon	21	120	141	0	7
28	Nasik Rural	7	83	90	38	14
29	Nandurbar	63	31	94	0	11
*	**Nasik Range**	**165**	**301**	**466**	**38**	**52**
30	Raigad	22	93	115	7	96
31	Ratnagiri	0	66	66	0	66
32	Sindhudurg	0	11	11	0	0
33	Thane Rural	0	90	90	63	27
34	Palghar	29	113	142	1	68
*	**Thane Range**	**51**	**373**	**424**	**71**	**257**
35	Mumbai Railway	53	218	271	13	118
36	Pune Railway	2	19	21	0	0
37	Nagpur Railway	18	25	43	0	0
*	**Railways Range**	**73**	**262**	**335**	**13**	**118**
38	Nagpur Commr.	70	474	544	0	0
39	Pune Commr.	0	901	901	153	60
40	Thane Commr.	47	473	520	183	98
41	Mumbai Commr.	350	1196	1546	183	457
42	Nasik Commr.	0	167	167	0	0
43	Aurangabad Commr.	16	194	210	0	0
44	Solapur Commr.	112	48	160	0	100
45	Navi Mumbai	0	210	210	58	96
46	Amravati Commr.	9	43	52	3	14
*	**Total of Commrs.**	**604**	**3706**	**4310**	**580**	**825**
**	**Total**	**2388**	**7370**	**9758**	**1314**	**2631**

तक्ता क्र. ५९ (पूर्ण)

TABLE NO. 59 (Concluded)

Sr. No.	Unit	Released On Probation And Placed Under Care Of Fit Instt.	Sent To Special Homes	Dealt With Fine	Acquitted Or Otherwise Disposed Of	Pending Disposal
1	**2**	**8**	**9**	**10**	**11**	**12**
1	Akola	24	7	2	15	24
2	Amravati Rural	12	23	0	22	88
3	Buldhana	0	0	0	25	134
4	Yavatmal	0	26	0	0	16
5	Washim	0	6	0	0	2
*	**Amaravati Range**	**36**	**62**	**2**	**62**	**264**
6	Aurangabad Rural	0	143	0	0	20
7	Jalna	0	0	0	0	20
8	Beed	15	41	0	0	0
9	Osmanabad	0	0	11	50	331
*	**A'bad Range**	**15**	**184**	**11**	**50**	**371**
10	Nanded	0	0	0	0	0
11	Latur	0	12	0	0	0
12	Parbhani	0	0	0	118	0
13	Hingoli	0	13	0	0	0
*	**Nanded Range**	**0**	**25**	**0**	**118**	**0**
14	Kolhapur	15	72	0	0	19
15	Pune Rural	0	0	0	0	95
16	Sangli	0	32	0	1	53
17	Satara	183	0	0	0	80
18	Solapur Rural	0	16	0	0	0
*	**Kolhapur Range**	**198**	**120**	**0**	**1**	**247**
19	Bhandara	0	0	4	19	226
20	Chandrapur	0	0	0	3	107
21	Nagpur Rural	0	0	0	52	0
22	Wardha	0	0	0	0	11
*	**Nagpur Range**	**0**	**0**	**4**	**74**	**344**
23	Gadchiroli	0	1	0	0	0
24	Gondia	0	0	6	12	25
*	**Gadchiroli Range**	**0**	**1**	**6**	**12**	**25**
25	Ahmednagar	0	75	0	0	46
26	Dhule	0	0	0	0	0
27	Jalgaon	11	82	11	14	16
28	Nasik Rural	0	31	0	0	7
29	Nandurbar	12	0	0	52	19
*	**Nasik Range**	**23**	**188**	**11**	**66**	**88**
30	Raigad	3	9	0	0	0
31	Ratnagiri	0	0	0	0	0
32	Sindhudurg	6	4	0	1	0
33	Thane Rural	0	0	0	0	0
34	Palghar	1	9	12	24	27
*	**Thane Range**	**10**	**22**	**12**	**25**	**27**
35	Mumbai Railway	3	5	3	2	127
36	Pune Railway	0	13	0	0	8
37	Nagpur Railway	0	43	0	0	0
*	**Railways Range**	**3**	**61**	**3**	**2**	**135**
38	Nagpur Commr.	0	456	0	0	88
39	Pune Commr.	172	95	0	10	411
40	Thane Commr.	24	137	1	0	77
41	Mumbai Commr.	75	223	115	64	429
42	Nasik Commr.	0	156	0	11	0
43	Aurangabad Commr.	0	204	0	0	6
44	Solapur Commr.	0	12	0	2	46
45	Navi Mumbai	6	14	0	0	36
46	Amravati Commr.	4	18	5	3	5
*	**Total of Commrs.**	**281**	**1315**	**121**	**90**	**1098**
**	**Total**	**566**	**1978**	**170**	**500**	**2599**

तक्ता क्र. ६०

२०१५ मध्ये भा. द.वि.आणि विशेष व स्थानिक कायदायाखालील ताब्यात घेतलेल्या विधीसंघर्षग्रस्त बाल यांची वर्गवारी व त्यांचे संबंधन

TABLE NO. 60

Classification Of Apprehended Juvenile In Conflict With Law (Under IPC & SLL)

Attributes During 2015 (Unit-Wise)

Sr. No.	Unit	Education					Family Background		
		Illiterate	Primary	Above Primary But Below Matric/ H.Sec.	Matric / H.Sec. & Above	Total	Living With Parents	Living With Guardians	Homeless
(1)	(2)	(3)	(4)	(5)	(6)	(7)	(8)	(9)	(10)
1	Akola	0	42	116	0	158	118	28	12
2	Amravati Rural	5	169	45	0	219	206	13	0
3	Buldhana	4	65	50	0	119	119	0	0
4	Yavatmal	2	46	32	0	80	75	5	0
5	Washim	0	15	21	0	36	36	0	0
*	**Amaravati Range**	**11**	**337**	**264**	**0**	**612**	**554**	**46**	**12**
6	Aurangabad Rural	6	50	32	0	88	83	0	5
7	Jalna	5	15	63	7	90	68	22	0
8	Beed	1	27	87	0	115	113	2	0
9	Osmanabad	4	39	91	0	134	98	0	0
*	**A'bad Range**	**16**	**131**	**273**	**7**	**427**	**398**	**24**	**5**
10	Nanded	0	39	140	0	179	179	0	0
11	Latur	0	0	54	0	54	18	24	12
12	Parbhani	22	27	58	11	118	118	0	0
13	Hingoli	50	0	0	0	50	50	0	0
*	**Nanded Range**	**72**	**66**	**252**	**11**	**401**	**365**	**24**	**12**
14	Kolhapur	10	17	161	12	200	0	0	0
15	Pune Rural	0	35	95	0	130	126	1	3
16	Sangli	2	44	121	3	170	168	2	0
17	Satara	2	44	121	3	170	168	2	0
18	Solapur Rural	0	0	12	106	118	115	3	0
*	**Kolhapur Range**	**16**	**137**	**621**	**130**	**904**	**894**	**7**	**3**
19	Bhandara	0	16	60	0	76	76	0	0
20	Chandrapur	2	25	63	0	90	90	0	0
21	Nagpur Rural	4	11	49	0	64	55	8	1
22	Wardha	4	0	62	0	66	64	2	0
*	**Nagpur Range**	**10**	**52**	**234**	**0**	**296**	**285**	**10**	**1**
23	Gadchiroli	1	2	10	0	13	12	0	1
24	Gondia	2	47	26	0	75	57	15	3
*	**Gadchiroli Range**	**3**	**49**	**36**	**0**	**88**	**69**	**15**	**4**
25	Ahmednagar	0	9	38	0	47	47	0	0
26	Dhule	4	6	10	0	20	0	20	0
27	Jalgaon	9	27	55	29	120	108	12	0
28	Nasik Rural	7	30	43	3	83	65	18	0
29	Nandurbar	2	6	13	10	31	25	6	0
*	**Nasik Range**	**22**	**78**	**159**	**42**	**301**	**245**	**56**	**0**
30	Raigad	0	0	31	62	93	84	0	9
31	Ratnagiri	0	18	46	2	66	66	0	0
32	Sindhudurg	0	0	2	9	11	11	0	0
33	Thane Rural	15	45	24	6	90	89	1	0
34	Palghar	21	70	22	0	113	87	24	2
*	**Thane Range**	**36**	**133**	**125**	**79**	**373**	**337**	**25**	**11**
35	Mumbai Railway	29	137	51	1	218	218	0	0
36	Pune Railway	3	16	0	0	19	19	0	0
37	Nagpur Railway	5	5	10	5	25	13	6	6
*	**Railways Range**	**37**	**158**	**61**	**6**	**262**	**250**	**6**	**6**
38	Nagpur Commr.	0	211	251	12	474	64	0	410
39	Pune Commr.	37	255	589	20	901	836	49	16
40	Thane Commr.	27	176	208	62	473	409	43	21
41	Mumbai Commr.	101	358	651	86	1196	953	184	59
42	Nasik Commr.	11	127	29	0	167	152	15	0
43	Aurangabad Commr.	3	158	33	0	194	187	7	0
44	Solapur Commr.	23	5	18	2	48	25	14	9
45	Navi Mumbai	11	108	91	0	210	169	41	0
46	Amravati Commr.	0	20	23	0	43	26	17	0
*	**Total of Commrs.**	**213**	**1418**	**1893**	**182**	**3706**	**2821**	**370**	**515**
**	**Total**	**436**	**2559**	**3918**	**457**	**7370**	**6218**	**583**	**569**

तक्ता क्र. ६० (पूर्ण)

Table No. 60 (Concluded)

Sr. No.	UNIT	Total	Annual Income (Upto Rs. 25,000)	Annual Income (Rs. 25,001 To Rs. 50,000)	Middle Income (Rs. 50,001 To Rs. 1,00,000)	Middle Income (Rs. 1,00,001 To Rs. 2,00,000)	Upper Middle Income (Rs. 2,00,001 To Rs. 3,00,000)	Upper Income (Above Rs. 3,00,000)	Total	New Delin-quent	Old Delin-quent	Total
1	**2**	**11**	**12**	**13**	**14**	**15**	**16**	**17**	**18**	**19**	**20**	**21**
1	Akola	158	158	0	0	0	0	0	158	158	0	158
2	Amravati Rural	219	22	86	80	15	13	3	219	186	33	219
3	Buldhana	119	79	22	15	3	0	0	119	113	6	119
4	Yavatmal	80	80	0	0	0	0	0	36	80	0	80
5	Washim	36	0	36	0	0	0	0	80	36	0	36
*	**Amaravati Range**	**612**	**339**	**144**	**95**	**18**	**13**	**3**	**612**	**573**	**39**	**612**
6	Aurangabad Rural	88	33	21	29	0	5	0	88	88	0	88
7	Jalna	90	25	22	22	12	5	4	90	72	18	90
8	Beed	115	26	52	32	4	0	1	115	114	1	115
9	Osmanabad	134	27	48	59	0	0	0	134	134	0	134
*	**A'bad Range**	**427**	**111**	**143**	**142**	**16**	**10**	**5**	**427**	**408**	**19**	**427**
10	Nanded	179	0	101	78	0	0	0	179	179	0	179
11	Latur	54	0	10	32	11	0	1	54	54	0	54
12	Parbhani	118	118	0	0	0	0	0	118	118	0	118
13	Hingoli	50	20	19	11	0	0	0	50	50	0	50
*	**Nanded Range**	**401**	**138**	**130**	**121**	**11**	**0**	**1**	**401**	**401**	**0**	**401**
14	Kolhapur	200	25	109	66	0	0	0	200	200	0	200
15	Pune Rural	130	67	46	16	1	0	0	130	130	0	130
16	Sangli	170	28	42	90	10	0	0	170	164	6	170
17	Satara	286	0	62	101	75	25	23	286	253	33	286
18	Solapur Rural	118	0	0	8	26	68	16	118	118	0	118
*	**Kolhapur Range**	**904**	**120**	**259**	**281**	**112**	**93**	**39**	**904**	**865**	**39**	**904**
19	Bhandara	76	57	19	0	0	0	0	76	58	18	76
20	Chandrapur	90	0	90	0	0	0	0	90	88	2	90
21	Nagpur Rural	64	7	4	48	5	0	0	64	64	0	64
22	Wardha	66	66	0	0	0	0	0	66	62	4	66
*	**Nagpur Range**	**296**	**130**	**113**	**48**	**5**	**0**	**0**	**296**	**272**	**24**	**296**
23	Gadchiroli	13	13	0	0	0	0	0	13	13	0	13
24	Gondia	75	45	30	0	0	0	0	75	75	0	75
*	**Gadchiroli Range**	**88**	**58**	**30**	**0**	**0**	**0**	**0**	**88**	**88**	**0**	**88**
25	Ahmednagar	47	0	9	36	2	0	0	47	47	0	47
26	Dhule	20	3	17	0	0	0	0	20	20	0	20
27	Jalgaon	120	4	23	67	19	7	0	120	120	0	120
28	Nasik Rural	83	45	12	9	8	3	6	83	83	0	83
29	Nandurbar	31	5	10	16	0	0	0	31	31	0	31
*	**Nasik Range**	**301**	**57**	**71**	**128**	**29**	**10**	**6**	**301**	**301**	**0**	**301**
30	Raigad	93	93	0	0	0	0	0	93	93	0	93
31	Ratnagiri	66	11	18	26	11	0	0	66	66	0	66
32	Sindhudurg	11	11	0	0	0	0	0	11	11	0	11
33	Thane Rural	90	39	51	0	0	0	0	90	89	1	90
34	Palghar	113	97	16	0	0	0	0	113	113	0	113
*	**Thane Range**	**373**	**251**	**85**	**26**	**11**	**0**	**0**	**373**	**372**	**1**	**373**
35	Mumbai Railway	218	111	83	22	0	1	1	218	212	6	218
36	Pune Railway	19	6	13	0	0	0	0	25	19	0	19
37	Nagpur Railway	25	25	0	0	0	0	0	19	25	0	25
*	**Railways Range**	**262**	**142**	**96**	**22**	**0**	**1**	**1**	**262**	**256**	**6**	**262**
38	Nagpur Commr.	474	307	167	0	0	0	0	474	458	16	474
39	Pune Commr.	901	240	218	302	99	39	3	901	880	21	901
40	Thane Commr.	473	224	92	115	39	3	0	473	446	27	473
41	Mumbai Commr.	1196	452	343	334	49	5	13	1196	1135	61	1196
42	Nasik Commr.	167	138	29	0	0	0	0	167	158	9	167
43	Aurangabad Commr.	194	194	0	0	0	0	0	194	192	2	194
44	Solapur Commr.	48	39	4	3	2	0	0	48	48	0	48
45	Navi Mumbai	210	114	63	29	3	0	1	210	210	0	210
46	Amravati Commr.	43	43	0	0	0	0	0	43	25	18	43
*	**Total of Commrs.**	**3706**	**1751**	**916**	**783**	**192**	**47**	**17**	**3706**	**3552**	**154**	**3706**
**	**Total**	**7370**	**3097**	**1987**	**1646**	**394**	**174**	**72**	**7370**	**7088**	**282**	**7370**

प्रकरण - ११

सराईत गुन्हेगारी

११.१.१ गुन्हेगारांच्या वारंवार गुन्हा करण्याच्या सवयीला सराईत गुन्हेगारी असे म्हटले जाते व अशा गुन्हेगाराला सराईत गुन्हेगार असे म्हणतात. सन २०११ ते २०१५ मधील गुन्हे पुनरावृत्तीचा आलेख खालील प्रमाणे अनियमितता दाखवितो.

CHAPTER - 11

Recidivism

11.1.1 Any relapse into crime by criminals is known as Recidivism, and a Recidivist is a person who relapses into crime. Following chart depicts percentage of recidivists among all arrested persons during (2011 to 2015), which shows irregular trend.

आलेख क्र. ११.१

सन २०११ ते २०१५ मधील सराईत गुन्हेगारीची टक्केवारी

Chart No. 11.1

Percentage of Recedivists during 2011 to 2015

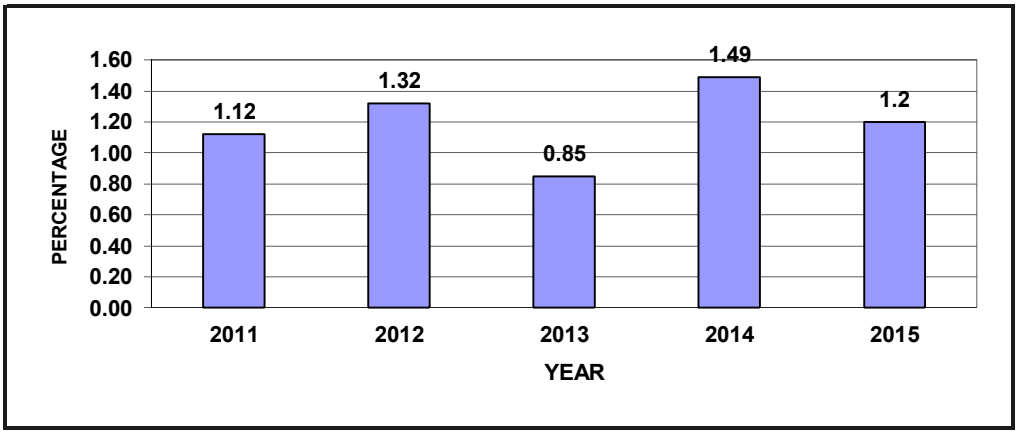

११.१.२ सन २०१५ सालातील जिल्हा व आयुक्तालय हद्दीतील भारतीय दंड विधान मधील सराईत गुन्हेगारीची सांख्यिकी माहिती तक्ता क्र. ६१ मध्ये दर्शविली आहे. सन २०१४ शी २०१५ ची तुलना करता २०१५ मधील सराईत गुन्हेगारी २०१४ या १.४९ % वरुन २०१५ मध्ये ती १.२% अशी घट आहे. सन २०१४ व २०१५ ची तुलना करता भारतीय दंड विधाना खालील ज्या जुन्या गुन्हेगारांना पूर्वी शिक्षा झाली आहे व परत अटक केली आहे अशा गुन्हेगारांची संख्या सन २०१४ मध्ये ५०४७ असून सन २०१५ मध्ये ४०४९ आहे. अशा गुन्हेगाराच्या गुन्हे करण्याच्या पुन:प्रवृत्तीची सर्वाधिक टक्केवारी मुंबई रेल्वे १३.८% इतकी आढळून आली आहे. महाराष्ट्रातील ०८ जिल्हे / आयुक्तालयात गुन्हे पुनरावृत्तीचे प्रमाण राज्याच्या एकुण गुन्हे पुनरावृत्तीच्या सरासरी पेक्षा म्हणजे १.२ % पेक्षा अधिक आढळून आले आहे. या निवडक जिल्हे / आयुक्तालयांतील सराईत गुन्हेगारांच्या संख्येमधील लक्षणीय चढ उतार तक्ता क्र. ११.१. मध्ये दर्शविला आहे.

11.1.2 District and Commissionerate-wise details of the number of recidivists arrested under IPC during 2015 is shown in Table No. 61. Percentage of recidivists among all offenders appears to have decresed to 1.2 % during 2015, as compared to 1.49 % during 2014. In absolute terms the number of past offenders arrested under the IPC during 2015 were 4049 as compared to 5047 during 2014. The highest percentage of recidivism was noticed in Mumbai Rly, i.e. 13.8 %. As many as 08 Districts / Commissionerates recorded a higher percentage of recidivism than that of State average of 1.2 %. A comparative picture of recidivism in these selective districts and Commissionerates showing considerable variation is given in Table No. 11.1.

तक्ता क्र. ११.१

सन २०१४ आणि २०१५ मधील ठराविक जिल्हे/ आयुक्तालयांतील सराईत गुन्हेगारांची टक्केवारी व फरक

Chart No. 11.1

Recidivisits percentage and the variation in selected districts and Commissionerates during 2014 and 2015

Sr. No.	District/COMMR.	Number of Recidivism		% Change during 2015 as compare to 2014
		2014	2015	
1	Mumbai Railway	450	390	-13.33
2	Washim	`	225	0.00
3	Mumbai Commr.	3784	2280	-39.75
4	Jalna	15	245	1533.33
5	Pune Railway	7	15	114.29
6	Amravati Rural	49	152	210.20
7	Yavatmal	14	188	1242.86
8	Sangli	25	172	588.00

* Rank of the units taken from col. No. 12 of table No. 61 in descending order of percentage for the year 2015.

११.१.३ सन २०१५ मध्ये राज्यात अटक केलेल्या आरोपींपैकी ३१६३ आरोपींना एकदा शिक्षा झाली होती. ५९६ जणांना दोनदा तर २९४ जणांना तीन किंवा अधिक वेळा शिक्षा झाली होती.

11.1.3. During 2015, out of total persons arrested in the State, 3163 have been convicted once, 596 persons have been convicted twice and 294 persons have been convicted thrice or more times.

आलेख क्र. ११.२

सन २०११ ते २०१५ मधील अटक केलेल्या सराईत गुन्हेगारांची संख्या

Chart No. 11.2

Number of Receidivists arrested during 2011 to 2015

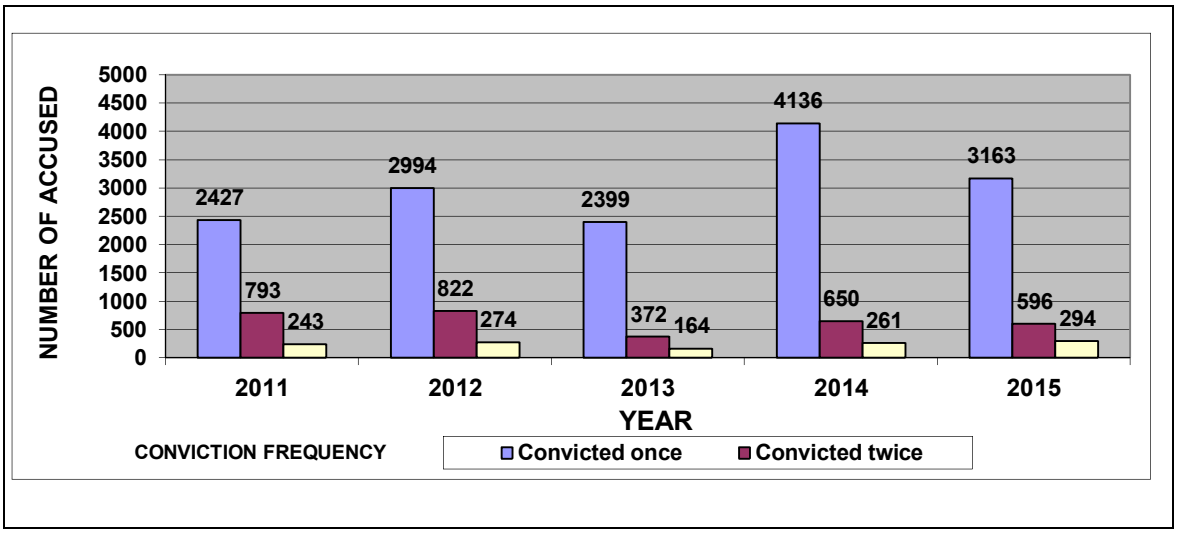

११.१.४ सन २०१५ मध्ये सर्वात अधिक गुन्हे पुनरावृत्ती मुंबई रेल्वे आयुक्तालयात १३.८% आढळून आली आहे. त्यानंतर वाशिम ५.८%, मुंबई शहर ५.०%, जालना ३.७% व पुणे रेल्वे २.९% आहे. सर्वात कमी गुन्हे पुनरावृत्ती नांदेड ०.०० %, सोलापूर ग्रामीण ०.०० %, नागपूर शहर ०.०० %, रायगड ०.०० % या घटकांत दिसून आली. सन २०१५ मध्ये तीन पेक्षा जास्त वेळा शिक्षा झालेले सर्वाधिक गुन्हेगार मुंबई शहर येथे (१७८) आढळले तर खालोखाल मुंबई रेल्वे (८१) आणि पुणे शहर (१३) यांचे क्रमांक लागतात.

11.1.4. During 2015 highest percentage of recidivism has been observed in Mumbai Rly, Commissionerate which was 13.8 %, followed by Washim 5.8 %, Mumbai City 5.0 %, Jalna 3.7%, Pune Railway 2.9 %. Minimum percentage of recidivism has been observed in Nanded 0.00 %, Solapur (R) 0.00 %, Nagpur City 0.00 % and Raigad 0.00 %. The highest number of recidivists, who have been convicted thrice or more in the past were found in Mumbai (C) (178) followed by Mumbai Rly (81) and Pune (C) (13).

११.१.५ आयुक्तालयांचा विचार करता सर्वात जास्त गुन्हे पुनरावृत्ती मुंबई शहर ५.० % इतकी म्हणजे मागील वर्षापेक्षा ३९.७५% ने घट झाली आहे तर सर्वात कमी पुनरावृत्ती नागपूर शहर, नाशिक शहर, औरंगाबाद शहर आणि अमरावती शहर ०.००%, आढळली. मुंबई शहर येथे २०१४ व २०१५ या दोन्ही वर्षी अनुक्रमे ९.४३% व ५.०% गुन्हे पुनरावृत्ती आढळली आहे.

11.1.5. Amongst the Commissionerates Mumbai (C) had the highest percentage of recidivism, i.e. 5.00%, which shows decrease by 39.75% than the previous year. The minimum recidivism was observed in Nagpur (C), Nashik (C), Aurangabad (C) & Amravati (C) i.e. 0.00%. In the Commissionerate of Mumbai (C) 9.43 % and 5.00% recidivism has been observed during 2014 and 2015 respectively.

तक्ता क्र. ११.२

मागील ५ वर्षाची गुन्हयांची पुनरावृत्ती करणा-या अटक झालेल्या आरोपींची संख्या

Table No. 11.2

Number of Recidivists arrested during last five years

Sr No.	Year	Recidivists		
		Convicted once	Convicted twice	Convicted thrice
1	2011	2427	793	243
2	2012	2994	822	274
3	2013	2399	372	164
4	2014	4136	650	261
5	2015	3163	596	294

तक्ता क्र.६१

सन २०१५ मध्ये भा.दं.वि. खाली अटक झालेले सराईत गुन्हेगार

TABLE NO. 61

Recidivists Amongst Persons Arrested Under IPC Crime During 2015

Sr. No.	Unit	Total number of persons arrested	New offenders		Old offenders convicted in the past						Percentage of recidivists 2015 (7)+(9)+(11)
			Number	Percentage to total	Once		Twice		Thrice and more		
					Number	Percentage to total	Number	Percentage to total	Number	Percentage to total	
(1)	(2)	(3)	(4)	(5)	(6)	(7)	(8)	(9)	(10)	(11)	(12)
1	Akola	5193	5180	99.75	13	0.25	0	0	0	0	0.25
2	Amravati Rural	6544	6392	97.68	138	2.11	14	0.21	0	0	2.32
3	Buldhana	9834	9806	99.72	23	0.23	4	0.04	1	0.01	0.28
4	Yavatmal	10120	9932	98.14	188	1.86	0	0	0	0	1.86
5	Washim	3874	3649	94.19	225	5.81	0	0	0	0	5.81
*	**Amaravati Range**	**35565**	**34959**	**98.30**	**587**	**1.65**	**18**	**0.05**	**1**	**0.00**	**1.70**
6	Aurangabad Rural	7702	7698	99.95	4	0.05	0	0	0	0.00	0.05
7	Jalna	6614	6369	96.30	245	3.70	0	0	0	0.00	3.70
8	Beed	9699	9698	99.99	1	0.01	0	0	0	0.00	0.01
9	Osmanabad	6121	6079	99.31	33	0.54	4	0.07	5	0.08	0.69
*	**A'bad Range**	**30136**	**29844**	**99.03**	**283**	**0.94**	**4**	**0.01**	**5**	**0.02**	**0.97**
10	Nanded	9059	9058	99.99	1	0.01	0	0.00	0	0.00	0.01
11	Latur	6668	6666	99.97	2	0.03	0	0.00	0	0.00	0.03
12	Parbhani	7954	7954	100.00	0	0.00	0	0.00	0	0.00	0
13	Hingoli	4335	4335	100.00	0	0.00	0	0.00	0	0.00	0
*	**Nanded Range**	**28016**	**28013**	**99.99**	**3**	**0.01**	**0**	**0.00**	**0**	**0.00**	**0.01**
14	Kolhapur	6374	6369	99.92	5	0.08	0	0.00	0	0.00	0.08
15	Pune Rural	12070	12065	99.96	0	0.00	5	0.04	0	0.00	0.04
16	Sangli	9523	9351	98.19	172	1.81	0	0.00	0	0.00	1.81
17	Satara	9765	9746	99.81	14	0.14	2	0.02	3	0.03	0.19
18	Solapur Rural	11239	11239	100.00	0	0.00	0	0.00	0	0.00	0
*	**Kolhapur Range**	**48971**	**48770**	**99.59**	**191**	**0.39**	**7**	**0.01**	**3**	**0.01**	**0.41**
19	Bhandara	2108	2088	99.05	20	0.95	0	0.00	0	0.00	0.95
20	Chandrapur	5174	5157	99.67	15	0.29	2	0.04	0	0.00	0.33
21	Nagpur Rural	4612	4611	99.98	1	0.02	0	0.00	0	0	0.02
22	Wardha	4000	3992	99.80	8	0.20	0	0.00	0	0	0.20
*	**Nagpur Range**	**15894**	**15848**	**99.71**	**44**	**0.28**	**2**	**0.01**	**0**	**0**	**0.29**
23	Gadchiroli	1626	1626	100.00	0	0.00	0	0.00	0	0	0.00
24	Gondia	2194	2194	100.00	0	0.00	0	0.00	0	0	0.00
*	**Gadchiroli Range**	**3820**	**3820**	**100.00**	**0**	**0.00**	**0**	**0.00**	**0**	**0**	**0.00**
25	Ahmednagar	13260	13254	99.95	6	0.05	0	0.00	0	0	0.05
26	Dhule	3709	3709	100.00	0	0.00	0	0.00	0	0	0
27	Jalgaon	10185	10185	100.00	0	0.00	0	0.00	0	0	0
28	Nasik Rural	11111	11068	99.61	24	0.22	12	0.11	7	0.06	0.39
29	Nandurbar	2378	2377	99.96	1	0.04	0	0	0	0.00	0.04
*	**Nasik Range**	**40643**	**40593**	**99.88**	**31**	**0.08**	**12**	**0.03**	**7**	**0.02**	**0.12**
30	Raigad	4150	4149	99.98	1	0.02	0	0.00	0	0.00	0.02
31	Ratnagiri	3029	3021	99.74	7	0.23	1	0.03	0	0.00	0.26
32	Sindhudurg	1294	1294	100.00	0	0.00	0	0.00	0	0.00	0.00
33	Thane Rural	4466	4466	100.00	0	0.00	0	0.00	0	0.00	0.00
34	Palghar	5717	5717	100.00	0	0.00	0	0.00	0	0.00	0.00
*	**Thane Range**	**18656**	**18647**	**99.95**	**8**	**0.04**	**1**	**0.01**	**0**	**0.00**	**0.05**
35	Mumbai Railway	2835	2445	86.24	223	7.87	86	3.03	81	2.86	13.76
36	Pune Railway	509	494	97.05	5	0.98	4	0.79	6	1.18	2.95
37	Nagpur Railway	823	814	98.91	9	1.09	0	0.00	0	0.00	1.09
*	**Railways Range**	**4167**	**3753**	**90.06**	**237**	**5.69**	**90**	**2.16**	**87**	**2.09**	**9.94**
38	Nagpur Commr.	10479	10479	100.00	0	0.00	0	0.00	0	0	0.00
39	Pune Commr.	16593	16541	99.69	29	0.17	10	0.06	13	0.08	0.31
40	Thane Commr.	18613	18597	99.91	16	0.09	0	0	0	0.00	0.09
41	Mumbai Commr.	45403	43123	94.98	1651	3.64	451	0.99	178	0.39	5.02
42	Nasik Commr.	4985	4985	100.00	0	0.00	0	0.00	0	0.00	0.00
43	Aurangabad Commr.	6626	6626	100.00	0	0.00	0	0.00	0	0.00	0.00
44	Solapur Commr.	2184	2179	99.77	4	0.18	1	0.05	0	0.00	0.23
45	Navi Mumbai	7538	7460	98.97	78	1.03	0	0.00	0	0.00	1.03
46	Amravati Commr.	4230	4229	99.98	1	0.02	0	0.00	0	0.00	0.02
*	**Total of Commrs.**	**116651**	**114219**	**97.92**	**1779**	**1.53**	**462**	**0.40**	**191**	**0.16**	**2.08**
**	**Total**	**342519**	**338466**	**98.82**	**3163**	**0.92**	**596**	**0.17**	**294**	**0.09**	**1.18**

प्रकरण - १२
अटक व खटले

भा. दं. वि. खालील अटक झालेल्या व्यक्तींबाबत

१२.१.१ सन २०१५ मध्ये एकूण ३४२५१९ व्यक्तींना भा.दं.वि. खालील गुन्हयांत अटक केली असून त्याच अनुषंगाने सन २०१४ साली ३३८३०८ लोकांना अटक करण्यात आली होती. गतवर्षाच्या तुलनेत भा.दं.वि. गुन्हयांतील अटक केलेल्या व्यक्तींची तुलना करता अटकेत १.२% ने वाढ झाली आहे. तक्ता क्र. ६२ मध्ये गुन्हयांचे वर्गीकरण व त्या सदराखालील अटक झालेल्या व्यक्तींबाबत सन २०१४ व २०१५ सालातील माहिती दिली आहे. भा.दं.वि. खालील इतर गुन्हे या सदराखालील १०२३१६ व्यक्तींना झालेली अटक ही एकूण अटक व्यक्तींच्या २९.८७% इतकी आहे.

वर्गीकृत भा.दं.वि. गुन्ह्यात जास्त अटकेचे प्रमाण २९.८७% इतर भा.दं.वि. प्रकारच्या गुन्ह्यात आहे. सन २०१४ च्या तुलनेत २०१५ मध्ये अनैसर्गिक गुन्हे १२२.४%, अपहरण व पळवून नेणे ३३ %, खंडणी २७.८%, वाहन बेदरकारपणे व निष्काळजीपणे चालण्यामुळे झालेले मृत्यू १५.८%, विविध समाजगटामध्ये शत्रुत्व पसरविणे १३.७%, विनयभंग ९.१% व खुनाचा प्रयत्न १.४% या गुन्हयांत वाढ झाली आहे. मानवी व्यापार, सदोष मनुष्यवधाची प्रयत्न, छेडछाड, गंभीर दुखापत, जबरी चोरी व खून या गुन्ह्यांतील अटकेमध्ये घट झाली आहे.

१२.१.२ तक्ता. १२.१ मध्ये सन २०१५ साली भा.दं.वि. खालील दाखल अटक आरोपींचे गुन्हे / अटक प्रमाण आणि प्रत्येक गुन्हयात अटक आरोपींची सरासरी दाखविली आहे.राज्यात सन २०१५ मध्ये अटकेचे प्रमाण २८७.५% असून, प्रत्येक गुन्हयामध्ये सरासरी १.२ आरोपी अटक झालेले आहेत.

१२.१.३ राज्यातील गुन्हे शीर्ष-निहाय अटक आरोपी, सन २०१४ च्या तुलनेतील सरासरी प्रमाणातील तफावत तक्ता क्र.६२ मध्ये दिलेली आहे. सन २०१५ मध्ये राज्यामध्ये एकूण ३४२५१९ आरोपीना अटक केली असून गुन्हयाचे प्रमाण २३१.१ व अटकेचे प्रमाण २८७.५ होते. राज्यामध्ये इतर भा.दं.वि या गुन्हयांमध्ये १०२३१६ आरोपींना अटक केली असून गुन्हयाचे प्रमाण ६०.३ व अटकेचे प्रमाण ८५.९ असे आहे. त्याखालोखाल चोरी (५१.३ व २६.९), बेदरकारपणे वाहन चालविणे (२६.१ व २३.४), घरफोडी (१३.९ व ९.३) आणि निष्काळजीपणामुळे मृत्यू (१०.९ व ७.७) असे गुन्ह्यांचे प्रमाण व अटकेचे प्रमाण आहे.

CHAPTER – 12
Arrests And Trials

Persons arrested under the IPC crimes

12.1.1 In all 342519 persons have been arrested by the police for various IPC crimes during 2015 as compared to 338308 persons during 2014 thereby indicating increase by 1.2%. Table No.62 gives information on persons arrested during 2014 and 2015 under various categories of IPC crimes. As many as 102316 persons (constituting 29.87% of all persons arrested) have been arrested for committing Other IPC Crimes.

Among specified IPC crimes the most arrests (29.87%) have been made in cases of Other IPC Crimes. During 2015 arrests under have increased in Unnatural Offences 122.4% followed by Kidnapping & AbductionArrests 33.0%, Extortion 27.8%, Incidence of Rash Driving 15.8%, Offences promoting enmity between different groups 13.7%, Assault on women with intent to outrage her Modesty 9.1%, Attempt to commit Murder1.4%. Arrests under Human Trafficking, Attempt to commit Culpable Homicide, Insult to the Modesty of Women, Grievous Hurt, Robbery, Murder, have decreased, during 2015 as compared to 2014.

12.1.2 Table No. 12.1 presents a comparison of crime rate vis-à-vis arrest rate and the number of arrests per case under IPC during 2015. During the year 2015, the arrest rate under IPC cases is 287.5% and on an average, 1.2 arrests have been made per offence.

12.1.3 Details of persons arrested under various categories of crime, and percentage variation in the State are given in Table No. 62. All together 342519 accused persons have been arrested during 2015. The crime rate was 231.1 and the arrest rate was 287.5. 102316 have been arrested for Other IPC Crimes for which the crime rate and arrest rate was (60.3 and 85.9) respectively, followed by Theft (51.3 and 26.9), incidences of Rash Driving-(26.1and 23.4), Criminal Tresspass/ Burglary (13.9 and 9.3) and Causing Death by Negligence (10.9 and 7.7) respectively.

१२.१.४ तक्ता क्र. ६३ मध्ये सन २०१५ साली भा.दं.वि.सं. खालील अटक आरोपींचे लिंग व गुन्हे शीर्षकानुसार वर्गवारी दाखविली आहे. सन २०१५ मध्ये भा.दं.वि. खालील गुन्हयांतील स्त्री गुन्हेगारांचे प्रमाण ८.१५% आहे. अटक आरोपींमध्ये स्त्रियांची सर्वाधिक अटक होण्याची टक्केवारी सदोष मनुष्यवधाचा प्रयत्न (३६.८%) त्याखालोखाल पती किंवा त्याचे नातेवाईकांकडून छळ (३४.५९%) व मानवी वाहतूक (३३.३%) असे आहे. दरोडयाची तयारी, सार्वजनिक रस्त्यावर बेदरकारपणे वाहन चालविणे, निष्काळजी / हयगयने मृत्युस कारण होण, बेदारकारपणे व निष्काळजीपणामुळे मृत्यू वाहन चोरी या शीर्षकांखाली सदरची टक्केवारी १% पेक्षा कमी आहे.

12.1.4 Table No. 63 gives crime head-wise and sex-wise breakup of persons arrested under IPC crimes in 2015. Females account for 8.15% percent of all arrestees. The percentage share of female arrestees was the highest vis-a-vis offences of Attempt to commit Culpable Homicide(36.8%), followed by offences of Cruelty by Husband or his Relatives (34.6%), Human Trafficking (33.3%). The percentage share was less than 1% in the offences of Making Prep. and Assembly for Dacoity, Incidence of Rash Driving, Causing Death by Negligence, Deaths due to negligent driving/act, and Auto Theft.

तक्ता क्र. १२.१

सन २०१५ मधील भा.द.वि. अंतर्गतचे गुन्हे प्रमाण तसेच अटकेचे प्रमाण

Table 12.1

Crime Rate Vis-A-Vis Arrest Rate For IPC Crimes During 2015

SR. No.	Crime Head	Persons Arrested	Crime Rate (Per Lakh Population)	Arrest Rate (Per Lakh Population)	Number Of Arrests Per Case
1	Murder	5494	2.1	4.6	2.2
2	Attempt to commit Murder	8761	2.2	7.4	3.3
3	Culpable Homicide not amounting to Murder	263	0.1	0.2	1.7
4	Attempt to commit Culpable Homicide	19	0	0.0	1.6
5	Rape	5188	3.4	4.4	1.3
6	Attempt to commit Rape	14	0	0.0	1.1
7	Kidnapping & Abduction	4423	6.9	3.7	0.5
8	Dacoity	3743	0.6	3.1	4.8
9	Making Preparation and Assembly for committing Dacoity	1387	0.2	1.2	5.0
10	Robbery	9515	7.2	8.0	1.1
11	Criminal Trespass/Burglary	11086	13.9	9.3	0.7
12	Theft	32103	51.3	26.9	0.5
13	Unlawful Assembly	6940	0.7	5.8	7.6
14	Riots	45787	7	38.4	5.5
15	Criminal Breach of Trust	2460	1.7	2.1	1.2
16	Cheating	10427	8.8	8.8	1.0
17	Forgery	1156	0.8	1.0	1.1
18	Counterfeiting	159	0.1	0.1	0.8

19	Arson	1246	1	1.0	1.0
20	Grievous Hurt	15219	6.6	12.8	1.9
21	Dowry Deaths	788	0.2	0.7	2.9
22	Assault on women with intent to outrage her Modesty	13675	9.8	11.5	1.2
23	Insult to the Modesty of Women	1190	0.9	1.0	1.1
24	Cruelty by Husband or his Relatives	20129	6.4	16.9	2.6
25	Importation of Girls from Foreign Country	0	0	0.0	0.0
26	Causing Death by Negligence	9201	10.9	7.7	0.7
27	Offences against State	0	0	0.0	0.0
28	Offences promoting enmity between different groups	232	0	0.2	6.6
29	Extortion	1472	0.8	1.2	1.5
30	Disclosure of Identity of Victims	0	0	0.0	0.0
31	Incidence of Rash Driving	27884	26.1	23.4	0.9
32	Human Trafficking	24	0.3	0.0	3.4
33	Unnatural Offences	218	7.4	0.2	1.4
34	Other IPC crimes	102316	60.3	85.9	1.4
	Total Cognizable Crimes Under IPC	**342519**	**231.1**	287.5	1.2

१२.१.५ तक्ता क्र. ६४ मध्ये सन २०१४ व २०१५ मध्ये अटक आरोपी, टक्केवारीतील तफावत व राज्यातील एकूण अटकेतील घटकनिहाय शेकडा प्रमाण दाखविले आहे. राज्यात ज्याप्रमाणे भा.दं.वि. गुन्हयांमध्ये आयुक्तालयांचा सर्वाधिक वाटा आहे त्याचप्रमाणे सर्वाधिक अटकेच्या प्रमाणात देखील आहे. उदा. मुंबई शहर व ठाणे शहर यांचा वाटा अनुक्रमे १३.२६% व ५.४३% असा आहे. सन २०१४ च्या तुलनेत २०१५ मध्ये ठाणे शहर (३५.४%), जालना (५५%), गडचिरोली (४७.८%) व सांगली (३९.४%) या घटकांत अटकेच्या संख्येत वाढ आहे तर अटकेच्या संख्येत धुळे (२३.९%), कोल्हापूर (२३.१%), गोदिंया (१९.५%), भंडारा (१६%) व सोलापूर शहर (१५.९%) या घटाकांमध्ये घट दिसते.

12.1.5 District and City-wise details regarding the number of persons arrested during 2014 and 2015 along with percentage variation in 2015 over 2014 and also the percentage share of arrests made by each Unit to the total number of arrests during 2015 are given in Table no. 64. The cities which contributed the highest number of IPC crimes in the State also contributed the most arrests, i.e. Mumbai (C) and Thane (C) contrubutes 13.26% and 5.43% respectivly. There is an increase in arrests in Thane (C) (35.4%). Jalna (55.0%), Gadhchiroli (47.8%) & Sangali (39.4%). Where as decrease in arrests is in Dhule (23.9%), Kolhapur (23.1%), Gondia (19.5%), Bhandara (16.0%) & Solapur (C) (15.9%) during 2015 when compared with 2014.

१२.१.६ तक्ता क्र.६५ मध्ये भा.दं.वि.च्या विविध शीर्षकांखाली अटक आरोपींची लिंगनिहाय व गुन्हेनिहाय सर्व घटकांची माहिती देण्यात आलेली आहे. सन २०१५ मध्ये राज्यातील एकूण अटक आरोपीं पैकी ८.१% स्त्रिया होत्या. राज्यातील स्त्रियांच्या अटकेच्या सरासरी टक्केवारी पेक्षा हिंगोली (१३.७%), नाशिक ग्रामीण (१३.७%), बुलढाणा (१३.३%), बीड (१२.५%), वाशिम (११.७%) व उस्मानाबाद (११.५%) या घटकांत प्रामुख्याने जास्त स्त्रिया अटक आहेत.

12.1.6 Table No.65 provides the sex-wise and crime head-wise details of number of persons arrested for various IPC crimes in all the Units. 8.1% of all persons arrested in the State in 2015 were female. Units where this percentage was quite above State average were Hingoli (13.7%), Nasik Rural (13.7%), Buldhana (13.3%), Beed (12.5%), Washim (11.7%) and Osmanabad (11.5%) respectively.

आलेख क्र. १२.१

सन २०१५ मध्ये भा.द.वि. गुन्ह्याखाली घटक निहाय अटक झालेल्या इसमांचा टक्केवारी सहभाग

Chart No. 12.1

Unit-Wise Percentage Distribution Of Persons Arrested Under IPC Crimes During 2015.

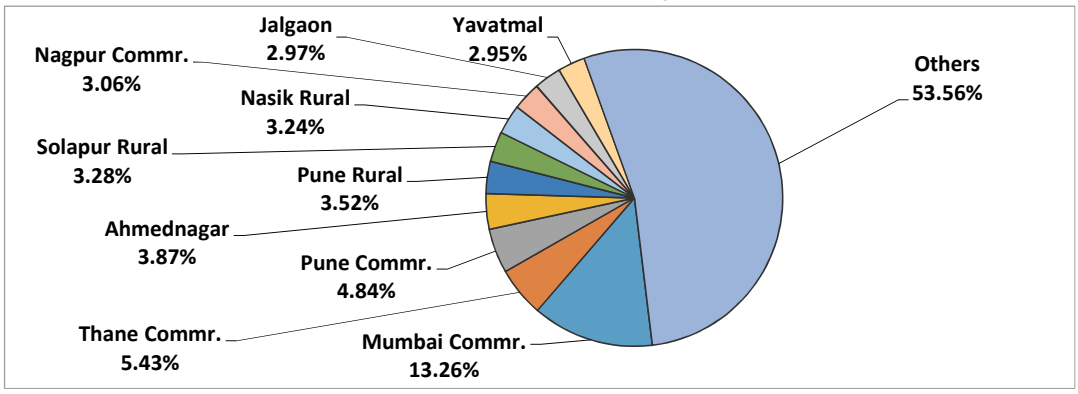

विशेष व स्थानिक कायद्याखालील अटक इसमांबाबत

१२.२.१ विशेष व स्थानिक कायद्याखाली सन २०१५ मध्ये १९३४१९ आरोपींना तर सन २०१४ मध्ये १७४८३० आरोपींना अटक करण्यात आली होती. त्यामध्ये १०.६% ने वाढ नोंदविण्यात आली आहे. तक्ता क्र. ६६ मध्ये सन २०१४ व २०१५ मधील गुन्हे शीर्ष-निहाय अटक झालेले आरोपी, टक्केवारीची तफावत व हिस्सेवारी दाखविली आहे.

१२.२.२ सन २०१५ मध्ये राज्यात विशेष व स्थानिक कायद्याखालील अटकेची गुन्हे शिर्षानुसार सर्वाधिक वाटा दारूबंदी कायदा (३५.६७%) असा असून जुगारसंबंधी कायदा (२७.६७%) व विशेष व स्थानिक कायद्याखाली येणारे (इतर) गुन्हे (२२.६६%) यांचा आहे.

Persons arrested under the SLL crimes

12.2.1 193419 persons have been arrested under the SLL crimes during 2015 as compared to 174830 persons during 2014, thereby indicating increase by 10.6%. Details of persons arrested under SLL crimes during the years 2014 and 2015, percentage variation and percentage share of crime are shown (head-wise) in Table No. 66.

12.2.2 During 2015 among specified SLL crimes, the highest share of arrests was under the Prohibition Act (35.67%), followed by Gambling Act (27.67%) and Other SLL Crimes (22.66%).

आलेख क्र. १२.२

सन २०१५ मध्ये भा.दं.वि. गुन्ह्याखाली घटक-निहाय एकूण अटक झालेल्या व्यक्तींशी अटक झालेल्या महिलांची टक्केवारी

Chart No. 12.2

Unit-Wise Percentage Share Of Females In Total Arrestees In IPC Crimes During 2015

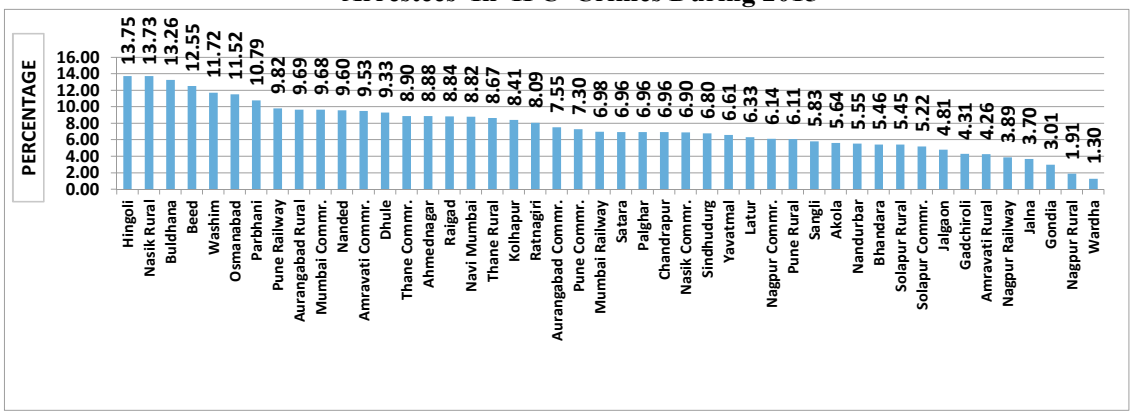

अटक आरोपीच्या संख्येत सन २०१४ च्या तुलनेत सन २०१५ मध्ये विधीसंघर्षग्रस्त बाल अधिनियम, अनैतिक मानवी व्यापार (प्रतिबंध) कायदा, हुंडा प्रतिबंधक कायदा व परकीय नागरीक विरुध्दचे गुन्हे यात भरीव वाढ झाली आहे. लोकप्रतिनिधीत्व कायदा, लॉटरी कायदा व वेठबिगार कायदा यात घट झालेली आहे.

During 2015, there is a tremendous increase in the arrestees under Juvenile Justice, Immoral Traffic (Prevention) Act, Dowry Prohibition Act and Foreigners Act. It is also observed that there is a decrease in the arrestees Representation of People Act, Lotteries Act, Bonded Labour System (Abolition) Act compared to 2014.

१२.२.३ तक्ता क्र. ६७ मध्ये सन २०१५ मध्ये विशेष व स्थानिक कायद्याखालील गुन्ह्यांमध्ये अटक झालेल्या आरोपींची गुन्हे शीर्ष-निहाय व लिंग-निहाय माहिती दाखविलेली आहे. राज्यपातळीवर विशेष व स्थानिक कायद्याखालील अटक झालेल्या स्त्रियांचे प्रमाण ३.७% असून भा.दं.वि. खालील गुन्हयांत सदरचे प्रमाण ८.१५% आहे. अनैतिक व्यापार (प्रतिबंध) कायदा (५१.५%), नागरी हक्क संरक्षण कायदा, १९५५ (३६.४) आणि विधी सघर्ष्ग्रस्त बाल कायदा (३२.१%) असा स्त्रियांच्या अटकेचा वाटा आहे.

12.2.3 Table No. 67 presents details of persons arrested under SLL in 2015 according to gender and crime head-wise. At State level percentage of female arrestees for SLL offences was 3.7% and for IPC offences, it was 8.15%. The percentage share of female arrestees was highest in Immoral Traffic (Prevention) Act (51.5),Protection of Civil Rights Act (36.4) followed by Juvenile Justice Act (32.1).

१२.२.४ तक्ता क्र. ६८ मध्ये विशेष व स्थानिक कायद्याअंतर्गत अटक झालेल्या आरोपींची गुन्हे, लिंग व घटक-निहाय माहिती देण्यात आलेली आहे. गडचिरोली (२२.८%), ठाणे ग्रामीण (१८.४%), पुणे रेल्वे (१२.७%), रायगड (१२%), सिंधुदुर्ग (११.६%), नागपूर रेल्वे (१०.७%), गोंदिया (१०.१%), पालघर (९.५%), नवी मुंबई (९.२%), ठाणे शहर (७.७%), रत्नागिरी (६.२%), चंद्रपुर (५.१%), औरंगाबाद शहर (४.६%), बुलढाणा (४.१%), वाशिम (३.९%) व सातारा (३.८%) या घटकांत अटक झालेल्या स्त्रियांचे प्रमाण राज्याच्या सरासरीपेक्षा (३.७%) अधिक आहे. सन २०१५ मध्ये राज्यात विशेष व स्थानिक कायद्यान्वये अटक झालेल्या एकूण ७१५१ स्त्रियांपैकी ४९९७ स्त्रिया दारुबंदी प्रतिबंधक कायद्यान्वये (६९.८८%) अटक झालेल्या आहेत.

12.2.4 The details of persons arrested in the various units under the various SLL Acts, according to crime head and gender-wise are given in Table No . 68. Gadchiroli (22.8%), Thane (R) (18.4%), Pune (Railway) (12.7%), Raigad (12.0%), Sindhudurg (11.6%), Nagpur (Railway) (10.7%), Gondia (10.1%), Palghar (9.5%), Navi mumbai (9.2%), Thane (C) (7.7%), Bhandara (7.4%), Pune city (6.7%), Nashik (R) (6.7%), Ratnagiri (6.2%), Chandrapur (5.1%), Aurangabad city (4.6%), Buldhana (4.1%), Washim (3.9%) & Satara (3.8%) had a comparatively higher percentage of female arrestees than the State average (3.7%). Out of total 7151 female arrestees State-wide under S.L.L. Crimes in Sate during 2015, 4997 females (69.88%) have been arrested under the Prohibition Act.

१२.२.५ भा.दं.वि. आणि विशेष व स्थानिक कायद्याअंतर्गत अटक झालेल्या आरोपींची लिंग व वयोगटानुसार विभागणी तक्ता क्र. ६९ मध्ये दिलेली आहे. भा.दं.वि. आणि विशेष व स्थानिक कायद्याखालील एकूण अटक झालेल्या आरोपींपैकी १८ वर्ष वयाखालील गटात अटक आरोपी १.३८%, १८ ते ३० या वयोगटात ४७.०६%, ३० ते ४५ या वयोगटात अटक आरोपी ३५.५५%, ४५ ते ६० या वयोगटातील अटक आरोपी १३.९९%, तसेच ६० वर्षे वयोगटावरील अटक आरोपी २.०३% इतके आहे.

12.2.5 The age-group and gender-wise distribution of persons arrested under various IPC and SLL cases is given in Table No. 69. Those falling under the age group below 18 years accounted for 1.38%, those between 18-30 years accounted for 47.06%, those between 30-45 years accounted for 35.55%, those between 45-60 years accounted for 13.99% those above 60 years of age accounted for 2.03% of total persons arrested.

तक्ता क्र. १२.२

सन २०१३ - २०१५ मध्ये भा.दं.वि. आणि विशेष व स्थानिक कायद्याखालील वयोगटानुसार अटक इसमांचा वाटा

Table 12.2

Age Group-Wise Share of Persons Arrested Under IPC & SLL Crimes During 2013 - 2015

Sr. No.	Year	Indian Penal Code Crimes (%)					Total
		Below 18 Years	18-30 Years	30-45 Years	45-60 Years	Above 60 Years	
[1]	[2]	[3]	[4]	[5]	[6]	[7]	[8]
1	2013	2.2	46.95	33.23	14.98	2.63	100
2	2014	2.05	46.33	34.77	14.43	2.41	100
3	2015	2.08	49.17	33.37	13.21	2.17	100

Sr. No.	Year	Special Laws / Local Laws (%)					Total
		Below 18 Years	18-30 Years	30-45 Years	45-60 Years	Above 60 Years	
[1]	[2]	[3]	[4]	[5]	[6]	[7]	[8]
1	2013	0.23	40.46	39.81	17.15	2.34	100
2	2014	0.16	42.09	38.89	16.59	2.27	100

१२.२.६ भा.दं.वि. खालील आरोपींचे वयोगटानुसार वर्गीकरण पाहता सर्वात जास्त १८-३० वयोगटातील ४९.१७% आरोपीना अटक झाली आहे. तर विशेष व स्थानिक कायद्याखालील सर्वात जास्त प्रमाण १८-३० वयोगटामध्ये ४३.३१% इतके आहे.

12.2.6 Considering the age group-wise classification of arrest under IPC cases, the age group of 18-30 years has shown maximum of total arrestees, i.e. 49.17%. Under SLL cases the age group of 18-30 years is the highest of total arrestees, i.e. 43.31%.

१२.२.७ तक्ता क्र. ७० मध्ये सन २०११ ते २०१५ या कालावधीतील भा.दं.वि. आणि विशेष व स्थानिक कायद्याखालील प्रत्येक गुन्हयामध्ये अटक झालेल्या आरोपींची सरासरी माहिती दाखविली आहे. यावरून असे दिसून येते की, सन २०१४ व २०१५ मध्ये भा.दं.वि.च्या प्रत्येक गुन्ह्यातील अटक झालेल्या आरोपींची संख्या थोडया फार फरकाने सारखीच आहे. दंगा, बेकायदेशीर जमाव व दरोडा या शीर्षाखाली प्रत्येक गुन्हयातील अटक झालेल्या आरोपींची सरासरी संख्या अनुक्रमे ५.५, ७.६ व ४.८ आहे.

12.2.7 Table No.70 gives information on the average number of persons arrested per case under IPC & S.L.L. for the years 2011 to 2015. It is apparent that arrests made per IPC case during 2015 are almost the same as during 2014. The average number of persons arrested per case under the Riots, Unlawful Asslembly and Dacoity are 5.5, 7.6 and 4.8 respectively.

त्याचप्रमाणे विशेष व स्थानिक कायद्याखालील बालविवाह (प्रतिबंध) कायदा (२.५), वन्यजीव संरक्षण कायदा १९७२ (३.३), सांस्कृतिक मालमत्ता कायदा (३), व घरगुती हिंसाचारपासून महिलांचे संरक्षण कायदा २००५ (३) या शीर्षाखाली अटक झालेल्या आरोपींची सरासरी वगळता अन्य गुन्हे शीर्षाखाली अटक झालेल्या आरोपींची प्रत्येक गुन्ह्यांमधील सरासरी थोड्याफार फरकाने सारखीच दिसते.

Similarly in SLL cases such as Prohibition Of Child Marriage Act (2.5) Wildlife Protection Act 1972 (3.3), Antiquties And Art Treasury Act (3) and Protection of Women from Domestic Violence Act 2005 (3). The average of arrestees in Other crime head cases are almost the same.

पोलिसांनी भा.दं.वि.खालील अटक केलेल्या आरोपींच्या निर्गतीबाबत

Analysis of persons arrested under the IPC crimes by Police

१२.३.१ सन २०१५ या वर्षात भा.दं.वि.अंतर्गत विविध गुन्हे शीर्षाखालील एकूण ४८५९९१ आरोपी हे तपासावर असलेल्या गुन्हयात जामीनावर किंवा अटकेत होते. यामध्ये सन २०१४ च्या अखेरीस तपासावर प्रलंबित असलेल्या गुन्हयांतील आरोपींचा देखील समावेश आहे. अटक करण्यात आलेल्या एकूण आरोपींपैकी ६३.९३%. आरोपींवर पोलिसांनी दोषारोपपत्र दाखल केले आहे. ०.७०% आरोपींना दोषारोपपत्र पाठविण्यापूर्वी सोडण्यात आले आहे व ३५.३६% आरोपी पोलीस तपास पूर्ण न झाल्याने एकतर अटकेत आहेत किंवा त्यांना जामीनावर सोडण्यात आले आहे.

12.3.1 During the year 2015, a total of 485991 persons were either in custody or on bail, vis-a vis various IPC offences under investigation by the police. This number includes those persons whose cases remained pending investigation at the end of the year 2014. Out of the total persons under arrest, police filed charge sheets against 63.93%, 0.70% of the total number of arrested persons are either released or freed by the police without charge sheet. 35.36% of arrested persons remained under custody or on bail as police investigation could not be completed in their cases.

तपासावरील प्रलंबित गुन्हयांत एकूण २९०३३ आरोपी हे वर्ष अखेरीस अटक आहेत. आरोपींचे सर्वाधिक प्रलंबन इतर भा. द. वि. २८%, दंगा ७.७६%, चोरी १०.७०%, गंभीर दुखापत १०.७८% व घरफोडी ३.८९% या शीर्षाखाली आहे. बलात्काराचा प्रयत्न व सदोष मनुष्यवधाचा प्रयत्न या अपराधामधील (९१.३% व ७४.८७%)मधील अटक आरोपींचे दोषारोपपत्र पोलिसांनी दाखल केलेले आहेत. तक्ता क्र. ७१ मध्ये भा.दं.वि. खालील शीर्षानुसार अटक आरोपींच्या निर्गतीबाबत माहिती दाखविली आहे.

At the end of the year 29033 accused were in custody during the stage of the pending investigation. The percentage of such persons was highest in cases of Other IPC 28%, Riot 7.76%, Theft 10.70%, Grevious Hurt 10.78% followed by Criminal Trespass 3.89%. As many as 91.3% persons arrested in Attemt to commit Rape are chargesheeted followed by Attempt to commit Culpable Homicide (84.78%). IPC crime-wise details regarding the disposal of persons arrested in these crimes is presented in Table No. 71.

१२.३.२ तक्ता क्र.७२ मध्ये भा.दं.वि.खालील अटक आरोपींची घटकनिहाय निर्गती दाखविलेली आहे. राज्यात घटक-निहाय प्रलंबित आरोपींचे प्रमाण ३५.३६ असून सर्व घटकांचा विचार करता सोलापूर शहर या घटका मध्ये सर्वात जास्त (६७.८%) असे प्रमाण असून मुंबई शहर (५६.०%) व नाशिक ग्रामीण (४७.७%) आहे.

12.3.2 Table No. 72 presents Unit-wise disposal of persons arrested under IPC crimes. 35.36% of arrestees awaiting further disposal in the State. Taking into consideration all units, pendency is maximum in Solapur (C) (67.8%), followed by Thane (C) (54.8%), Mumbai (C) (56.0%) and Nashik (R) (47.7%).

भा.दं.वि.खालील अटक आरोपींच्या कोर्ट निर्गतीबाबत

१२.४.१ सन २०१५ मध्ये भा.दं.वि. खाली अटक करण्यात आलेल्या आरोपींची कोर्टाकडून करण्यात आलेली निर्गती तक्ता क्र. ७३ मध्ये दर्शविण्यात आली आहे. सन २०१५ च्या सुरूवातीस विविध कोर्टात ३३३९९०३ आरोपी सुनावणीसाठी प्रलंबित होते. पोलिसांकडून सन २०१५ मध्ये ३१०६९६ आरोपींविरूध्द दोषारोपपत्र पाठविण्यात आले. सन २०१५ मध्ये एकूण ३६५०५९९ आरोपी सुनावणीकरिता विविध कोर्टात प्रलंबित होते, त्यापैकी २३१८५ आरोपींच्या प्रकरणांत कोर्टात तडजोड झाली किंवा इतर प्रकारे त्यांची निर्गती करण्यात आली आणि २०५५७८ आरोपींच्या प्रकरणांची सुनावणी पूर्ण करण्यात आली.

Analysis of persons by court arrested under the IPC crimes

12.4.1 Table No. 73 shows disposal of persons arrested under I.P.C. crimes by courts during 2015. At the beginning of 2015, 3339903 accused were awaiting trials before various criminal courts. During 2015 police filed charge-sheets against 310696 arrested persons. Thus, during 2015, total 3650599 arrested persons were awaiting trials before various courts out of which cases of 23185 persons were compounded or otherwise disposed off and trials have been completed in respect of 205578 persons.

आलेख क्र. १२.३

सन २०१५ मधील भा.दं.वि. गुन्ह्याखालील पोलिसांकडील तपासावर प्रलंबित असलेल्या अटक झालेल्या इसमांची टक्केवारी (घटक-निहाय)

Chart No. 12.3

Pendency Percentage Of Persons Arrested For Investigation By Police For IPC Crimes During – 2015 (Unit-Wise)

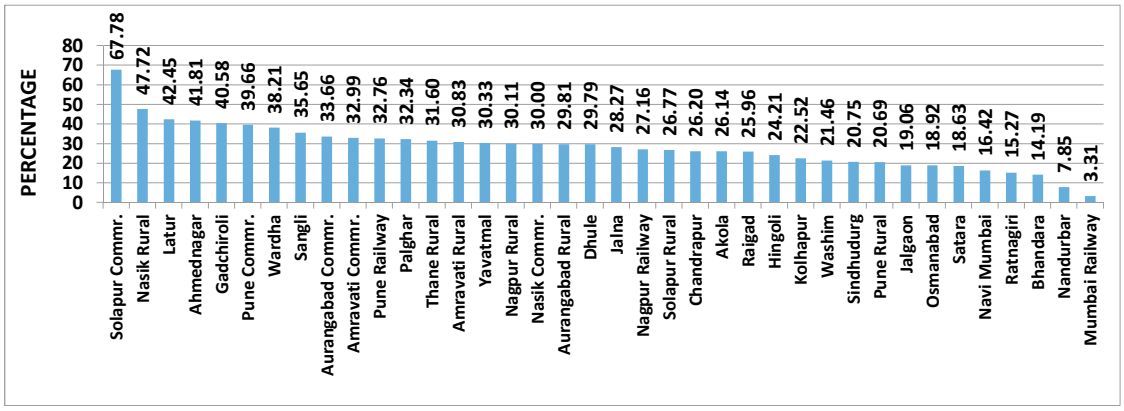

वस्तुत: ३४२१८३६ आरोपी (एकूण सुनावणीकरिता पाठविलेल्या पैकी ९३.७३%) सन २०१५ अखेर कोर्टात सुनावणी होण्यावर प्रलंबित आहेत. राज्यात भा.दं.वि. खालील एकूण अटक झालेल्या आरोपींपैकी २२.६% आरोपींना शिक्षा सुनावण्यात आली. हेच प्रमाण सन २०१४ मध्ये १२.८% होते. सर्वात अधिक शिक्षा होण्याचे प्रमाण बनावट चलन (२३.१%) या शिर्षाखालील गुन्हयांत आहे. अटक आरोपींच्या प्रकरणांत कोर्टात तडजोड किंवा इतर प्रकारे निर्गती करण्याचे प्रमाण गंभीर दुखापत (११६५) व पती किंवा पतीच्या नातेवाईकाडून छळ (२८५९) या शिर्षाखालील गुन्हयात अधिक आढळून येते.

In effect, as many as 3421836 persons (constituting 93.73% of the total meant for trail) were awaiting trials before the courts at the end of 2015. The overall State-wide conviction percentage for persons arrested in IPC cases was 22.6 percent compared to 12.8 percent during the year 2014. The highest conviction rate (23.9%) was obtained in Counterfeiting cases. Persons arrested compounded or otherwise disposed off by court is highest in Grievious Hurt (1165) and Cruelty by Husband or his Relatives (2859).

१२.४.२ तक्ता क्र.७४ मध्ये सन २०१५ मध्ये भा.दं.वि. खालील गुन्ह्यात अटक केलेल्या आरोपींची कोर्टाकरवी झालेल्या निर्गतीची माहिती घटक-निहाय दिलेली आहे. दोषारोप पत्र पाठविण्यात आलेले व न्यायालयात वर्षाअखेर निकाल होणेवर प्रलंबित असलेल्या एकूण ३४२१८३६ आरोपींपैकी जवळ जवळ १०.८% म्हणजे ३३५३८७ आरोपी एकमेव मुंबई शहरातील असून पुणे शहरातील ८% म्हणजे २४७९३५, आरोपी व ठाणे शहरातील २०६१६९ म्हणजे ६.६% आरोपी आहेत.

12.4.2 Table No. 74 gives unit-wise information regarding the court disposal of persons arrested under IPC crime during 2015. Out of 3421836 arrested persons, whose trials were pending at the end of year, nearly 10.8% , i.e. 335387, persons were from Mumbai (C) alone. Pune (C) 8% i.e.247935 and Thane (C) 6.6% i.e. 206169 are next in order.

विशेष व स्थानिक कायद्याखाली अटक झालेल्या आरोपींच्या पोलीस निर्गतीबाबत

१२.५.१ तक्ता क्र. ७५ मध्ये विशेष व स्थानिक कायद्यांतर्गत अटक केलेल्या आरोपींची पोलिसांनी केलेली निर्गतीची शीर्ष-निहाय माहिती दिलेली आहे. सन २०१५ मध्ये एकूण २७०४१२ आरोपी (ज्यात मागील वर्षाच्या आरोपींचा समावेश आहे) असे पोलिसांकडे तपासावर प्रलंबित असून ते पोलिसांच्या रखवालीत किंवा जामीनावर आहेत. या कालावधीत एकूण अटक केलेल्या आरोपींपैकी १७७२६२ (६५.६%) आरोपींविरूध्द पोलिसांनी दोषारोप पत्रे पाठविली आहेत.

Analysis of persons arrested under SLL by Police

12.5.1 The crime head-wise details of the disposal of persons arrested under SLL Crimes are presented in Table No. 75. During 2015, 270412, persons (including those brought over from the previous year) are either in police custody or on bail and their cases are pending for police investigation.177262 persons (65.6% of total arrestees) are charge-sheeted during 2015.

१२.५.२ विशेष व स्थानिक कायद्याखाली अटक आरोपींची निर्गती बाबत घटक-निहाय माहिती तक्ता क्र. ७६ मध्ये दाखविण्यात आली आहे. वर्षाअखेरीस ज्यांचे गुन्हे पोलीस तपासावर प्रलंबित आहेत अशा एकूण १९३४१९ आरोपींपैकी, सर्वाधिक ३०९०९ आरोपी हे मुबई शहर चे असून त्याचा प्रलंबनातील वाटा (१५.९८)% आहे. विशेष व स्थानिक कायदयांतर्गत सन २०१५ मध्ये सर्वात अधिक गुन्हेगार प्रलंबनाचे प्रमाण सोलापूर शहरात (२६.१%) आहे.

12.5.2 Unit-wise details about disposal of persons arrested under S.L.L crimes are given in Table No. 76. It is observed that out of the 193419 persons arrested, whose cases are pending investigation at the end of year, the majority 30909are from Mumbai (C) (15.98%). The cases of 26.1% of persons arrested under SLL, in Solapur (C), during 2015, remained pending at the end of year.

आलेख क्र. १२.४

सन २०१५ मध्ये विशेष व स्थानिक कायद्या खालील पोलीस तपासावर प्रलंबित असलेल्या इसमांची टक्केवारी (घटक-निहाय)

Chart No. 12.4

Pendency Percentage Of Arrested Persons Under Investigation By Police For SLL Crimes During 2015(Unit-Wise)

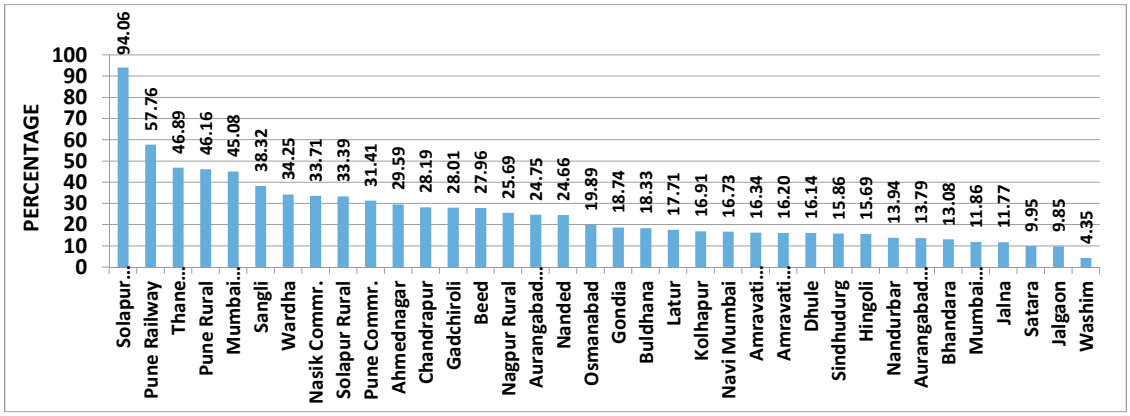

विशेष व स्थानिक कायद्यान्वये अटक आरोपींचे कोर्टाकडून निर्गतीबाबत

१२.६.१ तक्ता क्र.७७ मध्ये विशेष व स्थानिक कायद्याखाली अटक झालेल्या आरोपींचे कोर्टाकडून करण्यात आलेल्या निर्गतीबाबतची माहिती शीर्ष-निहाय दाखविली आहे. सन २०१५ मध्ये १८२४९१२ आरोपींवर खटले प्रलंबित होते, तर सन २०१४ मध्ये १६४७६५० आरोपींवर खटले प्रलंबित होते. २०१४ च्या तुलनेत सन २०१५ मध्ये १०.७६% इतकी वाढ झालेली आहे. सन २०१५ मध्ये सुनावणीसाठी प्रलंबित १८२४९१२ आरोपींपैकी कोर्टाने ११३७७२ म्हणजेच ६.२३% आरोपींची सुनावणी पूर्ण केली. सन २०१४ (१११९७९) च्या तुलनेत हे प्रमाण १.६०% ने जास्त आहे.

सन २०१५ मध्ये ११३७७२ इसमांवरील खटल्याची सुनावणी पूर्ण करण्यात आली. त्यापैकी ३७७७२ इसमांना शिक्षा देण्यात आली. या शाबितीचे प्रमाण ३३.२०% आहे तर २०१४ साली हे प्रमाण २४.६% होते. गुन्हे शीर्ष-निहाय अटक झालेल्या आरोपींच्या निर्गतीचे पृथःकरण करता दारुबंदी कायदयाखालील ४१०७९ (३६.११%), जुगार कायदयाखालील २६१७८ (२३%), मादक औषधे व अंमली पदार्थ विषयक कायदया खालील १२७०६ (११.१७%) आरोपींची सुनावणी पूर्ण झालेली आहे.

१२.६.२. तक्ता क्र. ७८ मध्ये विशेष व स्थानिक कायद्याप्रमाणे अटक करण्यात आलेल्या आरोपींची कोर्टाबाबतची घटक-निहाय माहिती दाखविण्यात आली आहे. पूर्वीप्रमाणेच राज्य पातळीवर विशेष व स्थानिक कायद्याखाली अटक झालेल्या आरोपींचे खटला प्रलंबनाचे प्रमाण ठाणे ग्रामीण (५१.२%) इतके असून त्यापाठोपाठ अमरावती शहर (५०.९%), नवी मुंबई शहर (५०.८%) व औरंगाबाद शहर (५०.४%) असे आहे.

Analysis of persons arrested under SLL crimes by courts.

12.6.1 The data relating to court disposals of persons arrested under SLL cases (Head-wise) is presented in Table No.77. Total 1824912 accused were awaiting disposal by courts during 2015 as compared to 1647650 accused during 2014, which shows an increase by 10.76%. Out of 1824912 accused awaiting trial during 2015, Courts have disposed off 113772, i.e. 6.23% of such accused. It is observed that there is an increase by 1.60% in disposal by the courts when compared with 2014 (111979).

The trials of 113772 accused have been completed during 2015. In all 37772 accused have been convicted, indicating a conviction percentage of 33.20% as compared to 24.6% during 2014. Considering the crime head-wise classification 41079 (36.11%) accused under Prohibition Act, 26178 (23%) accused under Gambling Act and 12706 (11.17%) accused under N.D.P.S Act have been tried by the courts.

12.6.2 Table No. 78 presents Unit-wise information on disposal of persons arrested under S.L.L. cases by court. As highest levels of pendency under SLL cases in the State was observed in Thane (R) (51.2%) followed by Amravati (C) (50.9%), Navi Mumbai (C) (50.8%) and Aurangabad (C) (50.76%).

तक्ता ६२

सन २०१५ मध्ये भा.दं.वि.गुन्ह्यांतर्गत शीर्ष-निहाय अटक झालेले आरोपी व सन २०१४ च्या तुलनेतील सरासरी प्रमाणातील तफावत

Table No. 62

Persons Arrested Under Ipc Crime (Head-Wise) During 2015 And Percentage Variation During 2015 As Compared To 2014

S.No.	Crime Head	2014	2015	Percentage Variation In 2015 Over 2014	Percentage Share of Arrestees Under Each Crime During 2015
1	2	3	4	5	6
CRIME HEAD:					
1	Murder	5766	5494	-4.72	1.60
2	Attempt to commit Murder	8638	8761	1.42	2.56
3	Culpable Homicide not amounting to Murder	297	263	-11.45	0.08
4	Attempt to commit Culpable Homicide	34	19	-44.12	0.01
5	Rape	4567	5188	13.60	1.51
5.1	Custodial Rape	0	0	-	0.00
5.1.1	Gang Rape	0	0	-	0.00
5.1.2	Other Rape	0	0	-	0.00
5.2	Rape other than Custodial	4567	5188	13.60	1.51
5.2.1	Gang Rape	362	386	6.63	0.11
5.2.2	Other Rape	4205	4802	14.19	1.40
6	Attempt to commit Rape	19	14	-26.32	0.00
7	Kidnapping & Abduction	3325	4423	33.02	1.29
7.1	Kidnapping & Abduction	1250	2180	74.40	0.64
7.2	Kidnaping & Abduction in order to Murder	30	43	43.33	0.01
7.3	Kidnapping for Ransom	71	96	35.21	0.03
7.4	Kidnapping & Abduction of Women to compel her for marriage	1188	1305	9.85	0.38
7.5	Other Kidnapping	786	799	1.65	0.23
8	Dacoity	4406	3743	-15.05	1.09
8.1	Dacoity with Murder	63	58	-7.94	0.02
8.2	Other Dacoity	4343	3685	-15.15	1.08
9	Making Preparation and Assembly for committing Dacoity	1438	1387	-3.55	0.40
10	Robbery	10121	9515	-5.98	2.78
11	Criminal Trespass/Burglary	11651	11086	-4.85	3.24
11.1	Criminal Trespass/Burglary	8463	8560	1.15	2.50
11.2	House Trespass & House Breaking	3188	2526	-20.76	0.74
12	Theft	32601	32103	-1.53	9.37
12.1	Auto Theft	7752	8702	12.25	2.54
12.2	Other Thefts	24849	24031	-3.29	7.02
13	Unlawful Assembly	7862	6940	-11.73	2.03
14	Riots	47890	45787	-4.39	13.37
14.1	Communal	861	1028	19.39	0.30
14.2	Industrial	32	382	1093.75	0.11
14.3	Political	1066	711	-33.30	0.21
14.4	Caste Conflict	2415	1215	-49.68	0.35
14.4.1	SC/STs Vs. Non-SCs/STs	902	684	-24.16	0.20
14.4.2	Other Caste Riots	1513	531	-64.90	0.16
14.5	Agrarian	472	515	9.11	0.15
14.6	Students	37	0	-100.00	0.00
14.7	Sectarian	0	0	-	0.00
14.8	Other Riots	43007	41936	-2.49	12.24
15	Criminal Breach of Trust	2484	2460	-0.97	0.72
16	Cheating	10649	10427	-2.08	3.04
17	Forgery	1193	1156	-3.10	0.34

तक्ता ६२

सन २०१५ मध्ये भा.दं.वि.गुन्ह्यांतर्गत शीर्ष-निहाय अटक झालेले आरोपी व सन २०१४ च्या तुलनेतील सरासरी प्रमाणातील तफावत

Table No. 62

Persons Arrested Under Ipc Crime (Head-Wise) During 2015 And Percentage Variation During 2015 As Compared To 2014

S.No.	Crime Head	2014	2015	Percentage Variation In 2015 Over 2014	Percentage Share of Arrestees Under Each Crime During 2015
1	2	3	4	5	6
CRIME HEAD:					
18	Counterfeiting	227	159	-29.95	0.05
18.1	Offences related to Counterfeit Coin	0	0	-	0.00
18.2	Counterfeiting Government Stamp	0	0	-	0.00
18.3	Counterfeit currency & Bank notes	227	159	-29.95	0.05
18.3.1	Counterfeiting currency notes or Bank notes	139	55	-60.43	0.02
18.3.2	Using forged or counterfeit currency/Bank notes	65	77	18.46	0.02
18.3.3	Possession of forged or counterfeiting currency / Bank notes	23	27	17.39	0.01
18.3.4	Make/Possess materials for forging or counterfeiting currency/Bank notes	0	0	-	0.00
18.3.5	Make/Use documents resembling currency notes/Bank notes	0	0	-	0.00
19	Arson	1249	1246	-0.24	0.36
20	Grievous Hurt	17040	15219	-10.69	4.44
20.1	Grievous Hurt	17036	15211	-10.71	4.44
20.2	Acid attack	4	7	75.00	0.00
20.3	Attempt to Acid Attack	0	1	-	0.00
21	Dowry Deaths	949	788	-16.97	0.23
22	Assault on women with intent to outrage her Modesty	12538	13675	9.07	3.99
22.1	Sexual Harassment	4811	5667	17.79	1.65
22.2	Assault on women with intent to Disrobe	441	560	26.98	0.16
22.3	Voyeurism	109	146	33.94	0.04
22.4	Stalking	873	1396	59.91	0.41
22.5	Others	6304	5906	-6.31	1.72
23	Insult to the Modesty of Women	1922	1190	-38.09	0.35
23.1	At Office premises	12	26	116.67	0.01
23.2	Places related to work other than Office	47	208	342.55	0.06
23.3	In Public Transport system	10	38	280.00	0.01
23.4	In Other Places	1853	918	-50.46	0.27
24	Cruelty by Husband or his Relatives	24741	20129	-18.64	5.88
25	Importation of Girls from Foreign Country	2	0	-100.00	0.00
26	Causing Death by Negligence	9698	9201	-5.12	2.69
26.1	Deaths due to negligent driving/act	8988	8603	-4.28	2.51
26.2	Deaths due to Other Causes	710	598	-15.77	0.17
27	Offences against State	0	0	-	0.00
27.1	Sedition	0	0	-	0.00
27.2	Other offences against State	0	0	-	0.00
28	Offences promoting enmity between different groups	204	232	13.73	0.07
28.1	Promoting enmity on ground of religion race and place of Birth	203	229	12.81	0.07
28.2	Imputation & assertions prejudicial to national integration	1	3	200.00	0.00
29	Extortion	1152	1472	27.78	0.43
30	Disclosure of Identity of Victims	0	0	-	0.00
31	Incidence of Rash Driving	24076	27884	15.82	8.14
32	Human Trafficking	303	24	-92.08	0.01
33	Unnatural Offences	98	218	122.45	0.06
34	Other IPC crimes	91168	102316	12.23	29.87
	Total Cognizable IPC crimes	**338308**	**342519**	**1.24**	**100.00**

तक्ता ६३

सन २०१५ मध्ये भा.दं.वि. गुन्ह्यांमध्ये अटक झालेले आरोपी (लिंग व गुन्हे शीर्ष-निहाय)

TABLE NO. 63

Persons Arrested Under Various IPC Crimes During 2015 (Crime Head-Wise & Gender-Wise

S.No.	Crime Head	Male	Female	Total	Percentage of Total	
					Male	Female
1	2	3	4	5	6	7
1	Murder	4997	497	5494	90.95	9.05
2	Attempt to commit Murder	8300	461	8761	94.74	5.26
3	Culpable Homicide not amounting to Murder	243	20	263	92.40	7.60
4	Attempt to commit Culpable Homicide	12	7	19	63.16	36.84
5	Rape	4874	314	5188	93.95	6.05
5.1	Custodial Rape	0	0	0	-	0.00
5.1.1	Gang Rape	0	0	0	-	0.00
5.1.2	Other Rape	0	0	0	-	0.00
5.2	Rape other than Custodial	4874	314	5188	93.95	6.05
5.2.1	Gang Rape	379	7	386	98.19	1.81
5.2.2	Other Rape	4495	307	4802	93.61	6.39
6	Attempt to commit Rape	14	0	14	100.00	0.00
7	Kidnapping & Abduction	4146	277	4423	93.74	6.26
7.1	Kidnapping & Abduction	2080	100	2180	95.41	4.59
7.2	Kidnaping & Abduction in order to Murder	41	2	43	95.35	4.65
7.3	Kidnapping for Ransom	94	2	96	97.92	2.08
7.4	Kidnapping & Abduction of Women to compel her for marriage	1193	112	1305	91.42	8.58
7.5	Other Kidnapping	738	61	799	92.37	7.63
8	Dacoity	3647	96	3743	97.44	2.56
8.1	Dacoity with Murder	58	0	58	100.00	0.00
8.2	Other Dacoity	3589	96	3685	97.39	2.61
9	Making Preparation and Assembly for committing Dacoity	1375	12	1387	99.13	0.87
10	Robbery	9347	168	9515	98.23	1.77
11	Criminal Trespass/Burglary (Total)	10852	234	11086	97.89	2.11
11.1	Criminal Trespass/Burglary (Section 457 & 458 IPC)	8409	151	8560	98.24	1.76
11.2	House Trespass & House Breaking (Section 459 & 460 IPC)	2443	83	2526	96.71	3.29
12	Theft	31020	1083	32103	96.63	3.37
12.1	Auto Theft	8060	12	8072	99.85	0.15
12.2	Other Thefts	22960	1071	24031	95.54	4.46
13	Unlawful Assembly	6126	814	6940	88.27	11.73
14	Riots	41364	4423	45787	90.34	9.66
14.1	Communal	975	53	1028	94.84	5.16
14.2	Industrial	363	19	382	95.03	4.97
14.3	Political	673	38	711	94.66	5.34
14.4	Caste Conflict	1118	97	1215	92.02	7.98
14.4.1	SC/STs Vs. Non-SCs/STs	642	42	684	93.86	6.14
14.4.2	Other Caste Riots	476	55	531	89.64	10.36
14.5	Agrarian	466	49	515	90.49	9.51
14.6	Students	0	0	0	-	0.00
14.7	Sectarian	0	0	0	-	0.00
14.8	Other Riots	37769	4167	41936	90.06	9.94
15	Criminal Breach of Trust	2353	107	2460	95.65	4.35
16	Cheating	9697	730	10427	93.00	7.00
17	Forgery	1057	99	1156	91.44	8.56

तक्ता ६३

सन २०१५ मध्ये भा.दं.वि. गुन्ह्यांमध्ये अटक झालेले आरोपी (लिंग व गुन्हे शीर्ष-निहाय)

TABLE NO. 63

Persons Arrested Under Various IPC Crimes During 2015 (Crime Head-Wise & Gender-Wise

S.No.	Crime Head	Male	Female	Total	Percentage of Total	
					Male	Female
1	2	3	4	5	6	7
18	Counterfeiting	143	16	159	89.94	10.06
18.1	Offences related to Counterfeit Coin	0	0	0	-	0.00
18.2	Counterfeiting Government Stamp	0	0	0	-	0.00
18.3	Counterfeit currency & Bank notes	143	16	159	89.94	10.06
18.3.1	Counterfeiting currency notes or Bank notes	54	1	55	98.18	1.82
18.3.2	Using forged or counterfeit currency/Bank notes	67	10	77	87.01	12.99
18.3.3	Possession of forged or counterfeiting currency / Bank notes	22	5	27	81.48	18.52
18.3.4	Make/Possess materials for forging or counterfeiting currency/Bank notes	0	0	0	-	0.00
18.3.5	Make/Use documents resembling currency notes/Bank notes	0	0	0	-	0.00
19	Arson	1203	43	1246	96.55	3.45
20	Grievous Hurt	14149	1070	15219	92.97	7.03
20.1	Grievous Hurt	14143	1068	15211	92.98	7.02
20.2	Acid attack	5	2	7	71.43	28.57
20.3	Attempt to Acid Attack	1	0	1	100.00	0.00
21	Dowry Deaths	528	260	788	67.01	32.99
22	Assault on women with intent to outrage her Modesty	13175	500	13675	96.34	3.66
22.1	Sexual Harassment	5486	181	5667	96.81	3.19
22.2	Assault on women with intent to Disrobe	528	32	560	94.29	5.71
22.3	Voyeurism	140	6	146	95.89	4.11
22.4	Stalking	1382	14	1396	99.00	1.00
22.5	Others	5639	267	5906	95.48	4.52
23	Insult to the Modesty of Women	1153	37	1190	96.89	3.11
23.1	At Office premises	26	0	26	100.00	0.00
23.2	Places related to work other than Office	199	9	208	95.67	4.33
23.3	In Public Transport system	37	1	38	97.37	2.63
23.4	in Other Places	891	27	918	97.06	2.94
24	Cruelty by Husband or his Relatives	13167	6962	20129	65.41	34.59
25	Importation of Girls from Foreign Country	0	0	0	-	0.00
26	Causing Death by Negligence	9155	46	9201	99.50	0.50
26.1	Deaths due to negligent driving/act	8572	31	8603	99.64	0.36
26.2	Deaths due to Other Causes	583	15	598	97.49	2.51
27	Offences against State	0	0	0	-	0.00
27.1	Sedition	0	0	0	-	0.00
27.2	Other offences against State	0	0	0	-	0.00
28	Offences promoting enmity between different groups	212	20	232	91.38	8.62
28.1	Promoting enmity on ground of religion race and place of Birth	209	20	229	91.27	8.73
28.2	Imputation & assertions prejudicial to national integration	3	0	3	100.00	0.00
29	Extortion	1410	62	1472	95.79	4.21
30	Disclosure of Identity of Victims	0	0	0	-	0.00
31	Incidence of Rash Driving	27712	172	27884	99.38	0.62
32	Human Trafficking	16	8	24	66.67	33.33
33	Unnatural Offences	208	10	218	95.41	4.59
34	Other IPC crimes	92964	9352	102316	90.86	9.14
Total Cognizable IPC crimes		**314619**	**27900**	**342519**	**91.85**	**8.15**

तक्ता क्र. ६४

सन २०१५ मध्ये भा.दं.वि. गुन्ह्यांतर्गत घटक-निहाय अटक झालेले आरोपी व सन २०१४ च्या तुलनेतील टक्केवारी प्रमाणातील तफावत

TABLE NO. 64

Persons Arrested Under Ipc Crime (Unit-Wise) During 2015 And Percentage Variation During 2015 As Compared To 2014

SR. NO.	UNIT	2014	2015	Percentage Varation in 2015 Over 2014	Percentage Share Of Arrested During 2015
1	2	3	4	5	6
1	Akola	5032	5193	3.20	1.52
2	Amravati Rural	7619	6544	-14.11	1.91
3	Buldhana	8755	9834	12.32	2.87
4	Yavatmal	11239	10120	-9.96	2.95
5	Washim	4290	3874	-9.70	1.13
*	**Amaravati Range**	**36935**	**35565**	**-3.71**	**10.38**
6	Aurangabad Rural	8361	7702	-7.88	2.25
7	Jalna	4266	6614	55.04	1.93
8	Beed	9791	9699	-0.94	2.83
9	Osmanabad	6372	6121	-3.94	1.79
*	**A'bad Range**	**28790**	**30136**	**4.68**	**8.80**
10	Nanded	9449	9059	-4.13	2.64
11	Latur	7904	6668	-15.64	1.95
12	Parbhani	7291	7954	9.09	2.32
13	Hingoli	3650	4335	18.77	1.27
*	**Nanded Range**	**28294**	**28016**	**-0.98**	**8.18**
14	Kolhapur	8293	6374	-23.14	1.86
15	Pune Rural	12070	12070	0.00	3.52
16	Sangli	6833	9523	39.37	2.78
17	Satara	9981	9765	-2.16	2.85
18	Solapur Rural	10395	11239	8.12	3.28
*	**Kolhapur Range**	**47572**	**48971**	**2.94**	**14.30**
19	Bhandara	2511	2108	-16.05	0.62
20	Chandrapur	6129	5174	-15.58	1.51
21	Nagpur Rural	5111	4612	-9.76	1.35
22	Wardha	4319	4000	-7.39	1.17
*	**Nagpur Range**	**18070**	**15894**	**-12.04**	**4.64**
23	Gadchiroli	1100	1626	47.82	0.47
24	Gondia	2726	2194	-19.52	0.64
*	**Gadchiroli Range**	**3826**	**3820**	**-0.16**	**1.12**
25	Ahmednagar	10053	13260	31.90	3.87
26	Dhule	4877	3709	-23.95	1.08
27	Jalgaon	10620	10185	-4.10	2.97
28	Nasik Rural	12557	11111	-11.52	3.24
29	Nandurbar	2808	2378	-15.31	0.69
*	**Nasik Range**	**40915**	**40643**	**-0.66**	**11.87**
30	Raigad	4818	4150	-13.86	1.21
31	Ratnagiri	2496	3029	21.35	0.88
32	Sindhudurg	1240	1294	4.35	0.38
33	Thane Rural	5240	4466	-14.77	1.30
34	Palghar	5705	5717	0.21	1.67
*	**Thane Range**	**19499**	**18656**	**-4.32**	**5.45**
35	Mumbai Railway	2223	2835	27.53	0.83
36	Pune Railway	423	509	20.33	0.15
37	Nagpur Railway	696	823	18.25	0.24
*	**Railways Range**	**3342**	**4167**	**24.69**	**1.22**
38	Nagpur Commr.	10274	10479	2.00	3.06
39	Pune Commr.	18721	16593	-11.37	4.84
40	Thane Commr.	13744	18613	35.43	5.43
41	Mumbai Commr.	43928	45403	3.36	13.26
42	Nasik Commr.	4951	4985	0.69	1.46
43	Aurangabad Commr.	5914	6626	12.04	1.93
44	Solapur Commr.	2596	2184	-15.87	0.64
45	Navi Mumbai	7039	7538	7.09	2.20
46	Amravati Commr.	3898	4230	8.52	1.23
*	**Total of Commrs.**	**111065**	**116651**	**5.03**	**34.06**
**	**Total**	**338308**	**342519**	**1.24**	**100.00**

तक्ता क्र. ६५

सन २०१५ मध्ये भा.दं.वि. गुन्ह्यांमधील घटक-निहाय अटक झालेले आरोपी (लिंग व गुन्हे शीर्ष-निहाय)

TABLE NO. 65

Unit-Wise Persons Arrested Under I.P.C. Crime During 2015 (Gender And Crimehead-Wise)

Sr. No.	Unit	Murder (Sec.302 IPC)			Attempt to Commit Murder (Sec.307 IPC)			C.H. Not Amounting to Murder (Sec.304IPC)			Attempt to C.H. Not Amounting to Murder(Sec.304IPC)		
		Male	Female	Total	Male	Female	Total	Male	Female	Total	Male	Female	Total
1	2	3	4	5	6	7	8	9	10	11	12	13	14
1	Akola	78	7	85	83	4	87	2	0	2	0	0	0
2	Amravati Rural	78	11	89	172	19	191	3	0	3	0	0	0
3	Buldhana	83	9	92	148	5	153	4	0	4	0	0	0
4	Yavatmal	153	16	169	135	11	146	14	0	14	0	0	0
5	Washim	48	9	57	377	14	391	12	4	16	0	0	0
*	**Amaravati Range**	**440**	**52**	492	**915**	**53**	**968**	**35**	**4**	**39**	**0**	**0**	0
6	Aurangabad Rural	108	19	127	159	16	175	0	0	0	0	0	0
7	Jalna	64	8	72	260	13	273	4	0	4	0	0	0
8	Beed	126	17	143	368	22	390	3	1	4	0	0	0
9	Osmanabad	70	11	81	225	12	237	2	0	2	0	0	0
*	**A'bad Range**	**368**	**55**	423	**1012**	**63**	**1075**	**9**	**1**	**10**	**0**	**0**	0
10	Nanded	122	25	147	234	8	242	1	0	1	0	0	0
11	Latur	161	16	177	121	3	124	4	0	4	0	0	0
12	Parbhani	109	16	125	266	19	285	2	0	2	0	0	0
13	Hingoli	67	22	89	130	12	142	1	0	1	0	0	0
*	**Nanded Range**	**459**	**79**	538	**751**	**42**	**793**	**8**	**0**	**8**	**0**	**0**	0
14	Kolhapur	72	1	73	265	14	279	8	3	11	0	0	0
15	Pune Rural	389	32	421	362	22	384	8	0	8	0	0	0
16	Sangli	120	10	130	136	10	146	8	0	8	0	0	0
17	Satara	128	4	132	294	10	304	8	0	8	0	0	0
18	Solapur Rural	191	18	209	371	27	398	15	0	15	2	0	2
*	**Kolhapur Range**	**900**	**65**	965	**1428**	**83**	**1511**	**47**	**3**	**50**	**2**	**0**	2
19	Bhandara	52	5	57	44	3	47	1	0	1	0	0	0
20	Chandrapur	42	5	47	99	3	102	8	0	8	0	0	0
21	Nagpur Rural	96	4	100	71	2	73	8	0	8	0	0	0
22	Wardha	77	3	80	58	0	58	6	0	6	0	0	0
*	**Nagpur Range**	**267**	**17**	284	**272**	**8**	**280**	**23**	**0**	**23**	**0**	**0**	0
23	Gadchiroli	54	6	60	56	5	61	7	1	8	0	0	0
24	Gondia	42	2	44	69	1	70	0	0	0	0	0	0
*	**Gadchiroli Range**	**96**	**8**	104	**125**	**6**	**131**	**7**	**1**	**8**	**0**	**0**	0
25	Ahmednagar	211	31	242	288	34	322	5	0	5	0	0	0
26	Dhule	53	2	55	137	9	146	3	1	4	0	0	0
27	Jalgaon	246	27	273	279	18	297	4	0	4	0	0	0
28	Nasik Rural	159	17	176	188	3	191	6	6	12	0	0	0
29	Nandurbar	60	7	67	303	24	327	2	0	2	0	0	0
*	**Nasik Range**	**729**	**84**	813	**1195**	**88**	**1283**	**20**	**7**	**27**	**0**	**0**	0
30	Raigad	35	7	42	80	1	81	9	0	9	0	0	0
31	Ratnagiri	29	1	30	17	2	19	12	1	13	0	0	0
32	Sindhudurg	8	3	11	12	0	12	0	0	0	8	7	15
33	Thane Rural	130	7	137	84	1	85	4	0	4	0	0	0
34	Palghar	133	14	147	94	3	97	6	1	7	0	0	0
*	**Thane Range**	**335**	**32**	367	**287**	**7**	**294**	**31**	**2**	**33**	**8**	**7**	15
35	Mumbai Railway	9	0	9	6	0	6	1	0	1	0	0	0
36	Pune Railway	6	0	6	19	0	19	0	0	0	0	0	0
37	Nagpur Railway	8	0	8	1	0	1	0	0	0	0	0	0
*	Railways Range	**23**	**0**	23	**26**	**0**	**26**	**1**	**0**	**1**	**0**	**0**	0
38	Nagpur Commr.	202	10	212	242	5	247	4	0	4	0	0	0
39	Pune Commr.	326	21	347	615	15	630	10	0	10	1	0	1
40	Thane Commr.	236	12	248	471	22	493	10	0	10	0	0	0
41	Mumbai Commr.	305	26	331	449	24	473	23	2	25	1	0	1
42	Nasik Commr.	91	9	100	95	8	103	0	0	0	0	0	0
43	Aurangabad Commr.	65	18	83	177	17	194	4	0	4	0	0	0
44	Solapur Commr.	16	0	16	31	2	33	0	0	0	0	0	0
45	Navi Mumbai	70	6	76	95	6	101	6	0	6	0	0	0
46	Amravati Commr.	69	3	72	114	12	126	5	0	5	0	0	0
*	**Total of Commrs.**	**1380**	**105**	1485	**2289**	**111**	**2400**	**62**	**2**	**64**	**2**	**0**	2
**	**Total**	**4997**	**497**	**5494**	**8300**	**461**	**8761**	**243**	**20**	**263**	**12**	**7**	**19**

तक्ता क्र. ६५ (चालू)

सन २०१५ मध्ये भा.दं.वि. गुन्ह्यांमधील घटक-निहाय अटक झालेले आरोपी (लिंग व गुन्हे शीर्ष-निहाय)

TABLE NO. 65 (contd.)

Unit-Wise Persons Arrested Under I.P.C. Crime During 2015 (Gender And Crimehead-Wise)

Sr. No.	Unit	Rape (Sec. 376 IPC)						Rape (Sec. 376 IPC)					
		Rape (Total)			Total Custodial Rape			Gang Rape			Other Rape		
		Male	Female	Total	Male	Female	Total	Male	Female	Total	Male	Female	Total
1	2	15	16	17	18	19	20	21	22	23	24	25	26
1	Akola	47	2	49	0	0	0	0	0	0	0	0	0
2	Amravati Rural	140	2	142	0	0	0	0	0	0	0	0	0
3	Buldhana	94	16	110	0	0	0	0	0	0	0	0	0
4	Yavatmal	117	4	121	0	0	0	0	0	0	0	0	0
5	Washim	53	3	56	0	0	0	0	0	0	0	0	0
*	**Amaravati Range**	**451**	**27**	**478**	**0**	**0**	**0**	**0**	**0**	**0**	**0**	**0**	**0**
6	Aurangabad Rural	58	0	58	0	0	0	0	0	0	0	0	0
7	Jalna	61	0	61	0	0	0	0	0	0	0	0	0
8	Beed	118	5	123	0	0	0	0	0	0	0	0	0
9	Osmanabad	69	10	79	0	0	0	0	0	0	0	0	0
*	**A'bad Range**	**306**	**15**	**321**	**0**	**0**	**0**	**0**	**0**	**0**	**0**	**0**	**0**
10	Nanded	103	8	111	0	0	0	**0**	**0**	**0**	**0**	**0**	**0**
11	Latur	60	0	60	0	0	0	0	0	0	0	0	0
12	Parbhani	62	5	67	0	0	0	0	0	0	0	0	0
13	Hingoli	60	5	65	0	0	0	0	0	0	0	0	0
*	**Nanded Range**	**285**	**18**	**303**	**0**	**0**	**0**	**0**	**0**	**0**	**0**	**0**	**0**
14	Kolhapur	120	12	132	0	0	0	**0**	**0**	**0**	**0**	**0**	**0**
15	Pune Rural	176	8	184	0	0	0	0	0	0	0	0	0
16	Sangli	88	6	94	0	0	0	0	0	0	0	0	0
17	Satara	137	5	142	0	0	0	0	0	0	0	0	0
18	Solapur Rural	161	16	177	0	0	0	0	0	0	0	0	0
*	**Kolhapur Range**	**682**	**47**	**729**	**0**	**0**	**0**	**0**	**0**	**0**	**0**	**0**	**0**
19	Bhandara	29	0	29	0	0	0	**0**	**0**	**0**	**0**	**0**	**0**
20	Chandrapur	129	3	132	0	0	0	0	0	0	0	0	0
21	Nagpur Rural	88	0	88	0	0	0	0	0	0	0	0	0
22	Wardha	73	0	73	0	0	0	0	0	0	0	0	0
*	**Nagpur Range**	**319**	**3**	**322**	**0**	**0**	**0**	**0**	**0**	**0**	**0**	**0**	**0**
23	Gadchiroli	41	0	41	0	0	0	**0**	**0**	**0**	**0**	**0**	**0**
24	Gondia	62	1	63	0	0	0	0	0	0	0	0	0
*	**Gadchiroli Range**	**103**	**1**	**104**	**0**	**0**	**0**	**0**	**0**	**0**	**0**	**0**	**0**
25	Ahmednagar	138	11	149	0	0	0	**0**	**0**	**0**	**0**	**0**	**0**
26	Dhule	37	6	43	0	0	0	0	0	0	0	0	0
27	Jalgaon	70	6	76	0	0	0	0	0	0	0	0	0
28	Nasik Rural	111	8	119	0	0	0	0	0	0	0	0	0
29	Nandurbar	47	5	52	0	0	0	0	0	0	0	0	0
*	**Nasik Range**	**403**	**36**	**439**	**0**	**0**	**0**	**0**	**0**	**0**	**0**	**0**	**0**
30	Raigad	120	9	129	0	0	0	**0**	**0**	**0**	**0**	**0**	**0**
31	Ratnagiri	57	0	57	0	0	0	0	0	0	0	0	0
32	Sindhudurg	35	1	36	0	0	0	0	0	0	0	0	0
33	Thane Rural	89	4	93	0	0	0	0	0	0	0	0	0
34	Palghar	131	7	138	0	0	0	0	0	0	0	0	0
*	**Thane Range**	**432**	**21**	**453**	**0**	**0**	**0**	**0**	**0**	**0**	**0**	**0**	**0**
35	Mumbai Railway	4	0	4	0	0	0	0	0	0	0	0	0
36	Pune Railway	5	4	9	0	0	0	0	0	0	0	0	0
37	Nagpur Railway	6	1	7	0	0	0	0	0	0	0	0	0
*	Railways Range	**15**	**5**	**20**	**0**	**0**	**0**	**0**	**0**	**0**	**0**	**0**	**0**
38	Nagpur Commr.	187	14	201	0	0	0	**0**	**0**	**0**	**0**	**0**	**0**
39	Pune Commr.	293	31	324	0	0	0	0	0	0	0	0	0
40	Thane Commr.	297	33	330	0	0	0	0	0	0	0	0	0
41	Mumbai Commr.	765	39	804	0	0	0	0	0	0	0	0	0
42	Nasik Commr.	39	4	43	0	0	0	0	0	0	0	0	0
43	Aurangabad Commr.	77	8	85	0	0	0	0	0	0	0	0	0
44	Solapur Commr.	40	0	40	0	0	0	0	0	0	0	0	0
45	Navi Mumbai	136	11	147	0	0	0	0	0	0	0	0	0
46	Amravati Commr.	44	1	45	0	0	0	0	0	0	0	0	0
*	**Total of Commrs.**	**1878**	**141**	**2019**	**0**	**0**	**0**	**0**	**0**	**0**	**0**	**0**	**0**
**	**Total**	**4874**	**314**	**5188**	**0**	**0**	**0**	**0**	**0**	**0**	**0**	**0**	**0**

तक्ता क्र. ६५ (चालू)

सन २०१५ मध्ये भा.दं.वि. गुन्ह्यांमधील घटक-निहाय अटक झालेले आरोपी (लिंग व गुन्हे शीर्ष-निहाय)

TABLE NO. 65 (contd.)

Unit-Wise Persons Arrested Under I.P.C. Crime During 2015 (Gender And Crimehead-Wise)

Sr. No.	Unit	Total Rape Other than Custodial			Rape (Sec. 376 IPC)						Attempt To Commit Rape (Section 376/511 IPC)		
					Gang Rape			Other Rape					
		Male	Female	Total	Male	Female	Total	Male	Female	Total	Male	Female	Total
1	2	27	28	29	30	31	32	33	34	35	36	37	38
1	Akola	47	2	49	5	0	5	42	2	44	0	0	0
2	Amravati Rural	140	2	142	21	0	21	119	2	121	0	0	0
3	Buldhana	94	16	110	9	1	10	85	15	100	0	0	0
4	Yavatmal	117	4	121	0	0	0	117	4	121	2	0	2
5	Washim	53	3	56	4	0	4	49	3	52	0	0	0
*	**Amaravati Range**	**451**	**27**	**478**	**39**	**1**	**40**	**412**	**26**	**438**	**2**	**0**	**2**
6	Aurangabad Rural	58	0	58	18	0	18	40	0	40	0	0	0
7	Jalna	61	0	61	7	0	7	54	0	54	0	0	0
8	Beed	118	5	123	13	0	13	105	5	110	0	0	0
9	Osmanabad	69	10	79	8	0	8	61	10	71	0	0	0
*	**A'bad Range**	**306**	**15**	**321**	**46**	**0**	**46**	**260**	**15**	**275**	**0**	**0**	**0**
10	Nanded	103	8	111	27	0	27	76	8	84	0	0	0
11	Latur	60	0	60	3	0	3	57	0	57	0	0	0
12	Parbhani	62	5	67	5	0	5	57	5	62	0	0	0
13	Hingoli	60	5	65	19	1	20	41	4	45	0	0	0
*	**Nanded Range**	**285**	**18**	**303**	**54**	**1**	**55**	**231**	**17**	**248**	**0**	**0**	**0**
14	Kolhapur	120	12	132	6	0	6	114	12	126	0	0	0
15	Pune Rural	176	8	184	5	0	5	171	8	179	0	0	0
16	Sangli	88	6	94	3	0	3	85	6	91	0	0	0
17	Satara	137	5	142	6	0	6	131	5	136	1	0	1
18	Solapur Rural	161	16	177	10	0	10	151	16	167	4	0	4
*	**Kolhapur Range**	**682**	**47**	**729**	**30**	**0**	**30**	**652**	**47**	**699**	**5**	**0**	**5**
19	Bhandara	29	0	29	4	0	4	25	0	25	0	0	0
20	Chandrapur	129	3	132	20	0	20	109	3	112	1	0	1
21	Nagpur Rural	88	0	88	7	0	7	81	0	81	0	0	0
22	Wardha	73	0	73	14	0	14	59	0	59	0	0	0
*	**Nagpur Range**	**319**	**3**	**322**	**45**	**0**	**45**	**274**	**3**	**277**	**1**	**0**	**1**
23	Gadchiroli	41	0	41	3	0	3	38	0	38	1	0	1
24	Gondia	62	1	63	4	0	4	58	1	59	0	0	0
*	**Gadchiroli Range**	**103**	**1**	**104**	**7**	**0**	**7**	**96**	**1**	**97**	**1**	**0**	**1**
25	Ahmednagar	138	11	149	22	0	22	116	11	127	1	0	1
26	Dhule	37	6	43	5	0	5	32	6	38	0	0	0
27	Jalgaon	70	6	76	2	0	2	68	6	74	1	0	1
28	Nasik Rural	111	8	119	6	0	6	105	8	113	0	0	0
29	Nandurbar	47	5	52	0	0	0	47	5	52	0	0	0
*	**Nasik Range**	**403**	**36**	**439**	**35**	**0**	**35**	**368**	**36**	**404**	**2**	**0**	**2**
30	Raigad	120	9	129	8	0	8	112	9	121	2	0	2
31	Ratnagiri	57	0	57	0	0	0	57	0	57	0	0	0
32	Sindhudurg	35	1	36	7	0	7	28	1	29	0	0	0
33	Thane Rural	89	4	93	6	0	6	83	4	87	0	0	0
34	Palghar	131	7	138	10	0	10	121	7	128	0	0	0
*	**Thane Range**	**432**	**21**	**453**	**31**	**0**	**31**	**401**	**21**	**422**	**2**	**0**	**2**
35	Mumbai Railway	4	0	4	0	0	0	4	0	4	0	0	0
36	Pune Railway	5	4	9	0	0	0	5	4	9	0	0	0
37	Nagpur Railway	6	1	7	0	0	0	6	1	7	0	0	0
*	Railways Range	**15**	**5**	**20**	**0**	**0**	**0**	**15**	**5**	**20**	**0**	**0**	**0**
38	Nagpur Commr.	187	14	201	21	0	21	166	14	180	1	0	1
39	Pune Commr.	293	31	324	5	1	6	288	30	318	0	0	0
40	Thane Commr.	297	33	330	10	0	10	287	33	320	0	0	0
41	Mumbai Commr.	765	39	804	31	2	33	734	37	771	0	0	0
42	Nasik Commr.	39	4	43	3	0	3	36	4	40	0	0	0
43	Aurangabad Commr.	77	8	85	10	2	12	67	6	73	0	0	0
44	Solapur Commr.	40	0	40	8	0	8	32	0	32	0	0	0
45	Navi Mumbai	136	11	147	4	0	4	132	11	143	0	0	0
46	Amravati Commr.	44	1	45	0	0	0	44	1	45	0	0	0
*	**Total of Commrs.**	**1878**	**141**	**2019**	**92**	**5**	**97**	**1786**	**136**	**1922**	**1**	**0**	**1**
**	**Total**	**4874**	**314**	**5188**	**379**	**7**	**386**	**4495**	**307**	**4802**	**14**	**0**	**14**

तक्ता क्र. ६५ (चालू)

सन २०१५ मध्ये भा.दं.वि. गुन्ह्यांमधील घटक-निहाय अटक झालेले आरोपी (लिंग व गुन्हे शीर्ष-निहाय)

TABLE NO. 65 (contd.)

Unit-Wise Persons Arrested Under I.P.C. Crime During 2015 (Gender And Crimehead-Wise)

Sr. No.	Unit	Kidnapping & Abduction (Section 363,364,364A, 366 IPC) - Total			K & A (Section 363 IPC)			K & A for Murder (Section 364 IPC)			K & A for Ransom (Section 364A IPC)		
		Male	Female	Total	Male	Female	Total	Male	Female	Total	Male	Female	Total
1	2	39	40	41	42	43	44	45	46	47	48	49	50
1	Akola	73	0	73	59	0	59	0	0	0	0	0	0
2	Amravati Rural	31	8	39	8	0	8	0	0	0	0	0	0
3	Buldhana	48	10	58	15	1	16	5	0	5	0	0	0
4	Yavatmal	141	12	153	68	7	75	0	0	0	0	0	0
5	Washim	36	2	38	16	2	18	0	0	0	0	0	0
*	**Amaravati Range**	**329**	**32**	**361**	**166**	**10**	**176**	**5**	**0**	**5**	**0**	**0**	**0**
6	Aurangabad Rural	41	2	43	19	2	21	2	0	2	0	0	0
7	Jalna	97	0	97	16	3	19	0	0	0	12	0	12
8	Beed	92	6	98	14	0	14	0	0	0	3	0	3
9	Osmanabad	35	3	38	4	0	4	0	0	0	0	0	0
*	**A'bad Range**	**265**	**11**	**276**	**53**	**5**	**58**	**2**	**0**	**2**	**15**	**0**	**15**
10	Nanded	63	10	73	0	0	0	0	0	0	0	0	0
11	Latur	127	9	136	0	0	0	0	0	0	0	0	0
12	Parbhani	96	10	106	50	1	51	0	0	0	0	0	0
13	Hingoli	11	5	16	6	5	11	0	0	0	0	0	0
*	**Nanded Range**	**297**	**34**	**331**	**56**	**6**	**62**	**0**	**0**	**0**	**0**	**0**	**0**
14	Kolhapur	101	8	109	9	0	9	0	0	0	1	0	1
15	Pune Rural	275	0	275	156	0	156	9	0	9	8	0	8
16	Sangli	156	4	160	37	2	39	0	0	0	7	0	7
17	Satara	75	3	78	37	2	39	0	0	0	1	0	1
18	Solapur Rural	172	12	184	57	1	58	0	0	0	10	1	11
*	**Kolhapur Range**	**779**	**27**	**806**	**296**	**5**	**301**	**9**	**0**	**9**	**27**	**1**	**28**
19	Bhandara	15	0	15	4	0	4	0	0	0	0	0	0
20	Chandrapur	55	2	57	0	0	0	0	0	0	0	0	0
21	Nagpur Rural	97	0	97	71	0	71	0	0	0	0	0	0
22	Wardha	90	1	91	51	0	51	0	0	0	0	0	0
*	**Nagpur Range**	**257**	**3**	**260**	**126**	**0**	**126**	**0**	**0**	**0**	**0**	**0**	**0**
23	Gadchiroli	16	0	16	3	0	3	0	0	0	0	0	0
24	Gondia	28	8	36	6	1	7	4	2	6	0	0	0
*	**Gadchiroli Range**	**44**	**8**	**52**	**9**	**1**	**10**	**4**	**2**	**6**	**0**	**0**	**0**
25	Ahmednagar	233	9	242	133	3	136	0	0	0	0	0	0
26	Dhule	41	6	47	0	0	0	0	0	0	0	0	0
27	Jalgaon	125	11	136	0	0	0	2	0	2	0	0	0
28	Nasik Rural	106	10	116	56	0	56	0	0	0	0	0	0
29	Nandurbar	15	1	16	3	0	3	0	0	0	0	0	0
*	**Nasik Range**	**520**	**37**	**557**	**192**	**3**	**195**	**2**	**0**	**2**	**0**	**0**	**0**
30	Raigad	17	2	19	15	1	16	0	0	0	0	0	0
31	Ratnagiri	55	3	58	30	3	33	10	0	10	0	0	0
32	Sindhudurg	32	5	37	2	0	2	0	0	0	0	0	0
33	Thane Rural	42	6	48	38	5	43	0	0	0	0	0	0
34	Palghar	62	0	62	46	0	46	0	0	0	9	0	9
*	**Thane Range**	**208**	**16**	**224**	**131**	**9**	**140**	**10**	**0**	**10**	**9**	**0**	**9**
35	Mumbai Railway	3	1	4	3	1	4	0	0	0	0	0	0
36	Pune Railway	0	2	2	0	2	2	0	0	0	0	0	0
37	Nagpur Railway	5	0	5	0	0	0	0	0	0	0	0	0
*	Railways Range	**8**	**3**	**11**	**3**	**3**	**6**	**0**	**0**	**0**	**0**	**0**	**0**
38	Nagpur Commr.	97	15	112	34	2	36	9	0	9	0	0	0
39	Pune Commr.	224	26	250	154	7	161	0	0	0	23	0	23
40	Thane Commr.	511	17	528	401	13	414	0	0	0	7	0	7
41	Mumbai Commr.	317	21	338	275	18	293	0	0	0	6	1	7
42	Nasik Commr.	33	2	35	28	2	30	0	0	0	2	0	2
43	Aurangabad Commr.	90	7	97	57	5	62	0	0	0	2	0	2
44	Solapur Commr.	42	10	52	15	6	21	0	0	0	0	0	0
45	Navi Mumbai	91	6	97	80	5	85	0	0	0	3	0	3
46	Amravati Commr.	34	2	36	4	0	4	0	0	0	0	0	0
*	**Total of Commrs.**	**1439**	**106**	**1545**	**1048**	**58**	**1106**	**9**	**0**	**9**	**43**	**1**	**44**
**	**Total**	**4146**	**277**	**4423**	**2080**	**100**	**2180**	**41**	**2**	**43**	**94**	**2**	**96**

तक्ता क्र. ६५ (चालू)

सन २०१५ मध्ये भा.दं.वि. गुन्ह्यांमधील घटक-निहाय अटक झालेले आरोपी (लिंग व गुन्हे शीर्ष-निहाय)

TABLE NO. 65 (contd.)

Unit-Wise Persons Arrested Under I.P.C. Crime During 2015 (Gender And Crimehead-Wise)

Sr. No.	Unit	K & A Of Women To Compel Her For Marriage (Section 366 IPC)			Kidnapping & Abduction of others			Dacoity (Section 395,396 & 398 IPC)			Dacoity With Murder (Section 396 IPC)		
		Male	Female	Total	Male	Female	Total	Male	Female	Total	Male	Female	Total
1	2	51	52	53	54	55	56	57	58	59	60	61	62
1	Akola	12	0	12	2	0	2	20	0	20	0	0	0
2	Amravati Rural	23	8	31	0	0	0	45	0	45	6	0	6
3	Buldhana	21	9	30	7	0	7	47	0	47	0	0	0
4	Yavatmal	63	5	68	10	0	10	36	0	36	0	0	0
5	Washim	14	0	14	6	0	6	42	0	42	0	0	0
*	**Amaravati Range**	**133**	**22**	**155**	**25**	**0**	**25**	**190**	**0**	**190**	**6**	**0**	**6**
6	Aurangabad Rural	14	0	14	6	0	6	95	2	97	3	0	3
7	Jalna	19	0	19	52	0	52	61	0	61	0	0	0
8	Beed	22	2	24	51	1	52	113	7	120	0	0	0
9	Osmanabad	25	3	28	6	0	6	80	5	85	18	0	18
*	**A'bad Range**	**80**	**5**	**85**	**115**	**1**	**116**	**349**	**14**	**363**	**21**	**0**	**21**
10	Nanded	48	8	56	15	2	17	61	0	61	6	0	6
11	Latur	127	9	136	0	0	0	117	0	117	0	0	0
12	Parbhani	17	4	21	29	5	34	24	0	24	0	0	0
13	Hingoli	3	0	3	2	0	2	38	10	48	0	0	0
*	**Nanded Range**	**195**	**21**	**216**	**46**	**7**	**53**	**240**	**10**	**250**	**6**	**0**	**6**
14	Kolhapur	62	7	69	29	1	30	78	2	80	0	0	0
15	Pune Rural	9	0	9	93	0	93	194	0	194	5	0	5
16	Sangli	56	0	56	56	2	58	91	4	95	0	0	0
17	Satara	35	1	36	2	0	2	191	8	199	0	0	0
18	Solapur Rural	97	9	106	8	1	9	119	1	120	3	0	3
*	**Kolhapur Range**	**259**	**17**	**276**	**188**	**4**	**192**	**673**	**15**	**688**	**8**	**0**	**8**
19	Bhandara	6	0	6	5	0	5	0	0	0	0	0	0
20	Chandrapur	26	0	26	29	2	31	21	0	21	0	0	0
21	Nagpur Rural	26	0	26	0	0	0	37	0	37	0	0	0
22	Wardha	33	1	34	6	0	6	8	0	8	0	0	0
*	**Nagpur Range**	**91**	**1**	**92**	**40**	**2**	**42**	**66**	**0**	**66**	**0**	**0**	**0**
23	Gadchiroli	6	0	6	7	0	7	6	0	6	0	0	0
24	Gondia	10	2	12	8	3	11	0	0	0	0	0	0
*	**Gadchiroli Range**	**16**	**2**	**18**	**15**	**3**	**18**	**6**	**0**	**6**	**0**	**0**	**0**
25	Ahmednagar	77	5	82	23	1	24	329	6	335	2	0	2
26	Dhule	20	3	23	21	3	24	85	3	88	5	0	5
27	Jalgaon	109	11	120	14	0	14	246	9	255	6	0	6
28	Nasik Rural	44	9	53	6	1	7	216	5	221	0	0	0
29	Nandurbar	12	1	13	0	0	0	11	0	11	0	0	0
*	**Nasik Range**	**262**	**29**	**291**	**64**	**5**	**69**	**887**	**23**	**910**	**13**	**0**	**13**
30	Raigad	0	0	0	2	1	3	23	2	25	0	0	0
31	Ratnagiri	0	0	0	15	0	15	17	0	17	0	0	0
32	Sindhudurg	8	3	11	22	2	24	5	0	5	0	0	0
33	Thane Rural	0	0	0	4	1	5	39	0	39	0	0	0
34	Palghar	1	0	1	6	0	6	106	2	108	0	0	0
*	**Thane Range**	**9**	**3**	**12**	**49**	**4**	**53**	**190**	**4**	**194**	**0**	**0**	**0**
35	Mumbai Railway	0	0	0	0	0	0	29	0	29	0	0	0
36	Pune Railway	0	0	0	0	0	0	29	0	29	0	0	0
37	Nagpur Railway	0	0	0	5	0	5	46	0	46	0	0	0
*	Railways Range	**0**	**0**	**0**	**5**	**0**	**5**	**104**	**0**	**104**	**0**	**0**	**0**
38	Nagpur Commr.	34	2	36	20	11	31	111	1	112	0	0	0
39	Pune Commr.	20	0	20	27	19	46	276	2	278	0	0	0
40	Thane Commr.	10	2	12	93	2	95	110	2	112	4	0	4
41	Mumbai Commr.	14	0	14	22	2	24	202	18	220	0	0	0
42	Nasik Commr.	2	0	2	1	0	1	45	0	45	0	0	0
43	Aurangabad Commr.	16	2	18	15	0	15	78	2	80	0	0	0
44	Solapur Commr.	23	4	27	4	0	4	20	0	20	0	0	0
45	Navi Mumbai	0	0	0	8	1	9	96	5	101	0	0	0
46	Amravati Commr.	29	2	31	1	0	1	4	0	4	0	0	0
*	**Total of Commrs.**	**148**	**12**	**160**	**191**	**35**	**226**	**942**	**30**	**972**	**4**	**0**	**4**
**	**Total**	**1193**	**112**	**1305**	**738**	**61**	**799**	**3647**	**96**	**3743**	**58**	**0**	**58**

तक्ता क्र. ६५ (चालू)

सन २०१५ मध्ये भा.दं.वि. गुन्ह्यांमधील घटक-निहाय अटक झालेले आरोपी (लिंग व गुन्हे शीर्ष-निहाय)

TABLE NO. 65 (contd.)

Unit-Wise Persons Arrested Under I.P.C. Crime During 2015 (Gender And Crimehead-Wise)

Sr. No.	Unit	Others			Making Preparation And Assembly For Committing Dacoity (Section 399 & 402 IPC)			Robbery (Section 392 To 394, 397 And 398 IPC)			Criminal Trespass/Burglary (Section 457 To 460 IPC)		
											Criminal Trespass/Burglary (Section 457 To 460 IPC) (Total)		
		Male	Female	Total	Male	Female	Total	Male	Female	Total	Male	Female	Total
1	2	63	64	65	66	67	68	69	70	71	72	73	74
1	Akola	20	0	20	0	0	0	87	0	87	137	0	137
2	Amravati Rural	39	0	39	6	0	6	30	0	30	63	0	63
3	Buldhana	47	0	47	6	0	6	61	2	63	122	6	128
4	Yavatmal	36	0	36	2	0	2	92	1	93	143	3	146
5	Washim	42	0	42	0	0	0	25	10	35	37	0	37
*	**Amaravati Range**	**184**	**0**	**184**	**14**	**0**	**14**	**295**	**13**	**308**	**502**	**9**	**511**
6	Aurangabad Rural	92	2	94	44	0	44	113	3	116	113	0	113
7	Jalna	61	0	61	31	0	31	72	0	72	113	0	113
8	Beed	113	7	120	54	0	54	124	5	129	347	0	347
9	Osmanabad	62	5	67	30	0	30	45	0	45	148	0	148
*	**A'bad Range**	**328**	**14**	**342**	**159**	**0**	**159**	**354**	**8**	**362**	**721**	**0**	**721**
10	Nanded	55	0	55	10	0	10	96	1	97	171	1	172
11	Latur	117	0	117	11	0	11	63	0	63	152	0	152
12	Parbhani	24	0	24	4	0	4	49	1	50	82	0	82
13	Hingoli	38	10	48	6	0	6	40	4	44	76	2	78
*	**Nanded Range**	**234**	**10**	**244**	**31**	**0**	**31**	**248**	**6**	**254**	**481**	**3**	**484**
14	Kolhapur	78	2	80	24	0	24	250	8	258	263	15	278
15	Pune Rural	189	0	189	106	1	107	170	4	174	182	9	191
16	Sangli	91	4	95	13	0	13	107	3	110	161	1	162
17	Satara	191	8	199	47	0	47	302	6	308	126	11	137
18	Solapur Rural	116	1	117	30	7	37	76	1	77	234	2	236
*	**Kolhapur Range**	**665**	**15**	**680**	**220**	**8**	**228**	**905**	**22**	**927**	**966**	**38**	**1004**
19	Bhandara	0	0	0	0	0	0	30	0	30	98	4	102
20	Chandrapur	21	0	21	7	0	7	60	0	60	137	0	137
21	Nagpur Rural	37	0	37	5	0	5	60	0	60	87	2	89
22	Wardha	8	0	8	17	0	17	71	0	71	93	0	93
*	**Nagpur Range**	**66**	**0**	**66**	**29**	**0**	**29**	**221**	**0**	**221**	**415**	**6**	**421**
23	Gadchiroli	6	0	6	0	0	0	10	0	10	44	3	47
24	Gondia	0	0	0	5	0	5	47	0	47	99	0	99
*	**Gadchiroli Range**	**6**	**0**	**6**	**5**	**0**	**5**	**57**	**0**	**57**	**143**	**3**	**146**
25	Ahmednagar	327	6	333	99	0	99	385	2	387	218	24	242
26	Dhule	80	3	83	27	0	27	106	11	117	102	0	102
27	Jalgaon	240	9	249	27	0	27	142	4	146	124	2	126
28	Nasik Rural	216	5	221	15	0	15	148	5	153	197	3	200
29	Nandurbar	11	0	11	0	0	0	23	1	24	56	3	59
*	**Nasik Range**	**874**	**23**	**897**	**168**	**0**	**168**	**804**	**23**	**827**	**697**	**32**	**729**
30	Raigad	23	2	25	12	0	12	79	2	81	147	0	147
31	Ratnagiri	17	0	17	2	0	2	45	6	51	89	4	93
32	Sindhudurg	5	0	5	0	0	0	19	0	19	79	1	80
33	Thane Rural	39	0	39	11	0	11	114	2	116	184	0	184
34	Palghar	106	2	108	30	0	30	172	2	174	370	4	374
*	**Thane Range**	**190**	**4**	**194**	**55**	**0**	**55**	**429**	**12**	**441**	**869**	**9**	**878**
35	Mumbai Railway	29	0	29	4	0	4	447	15	462	1	0	1
36	Pune Railway	29	0	29	11	0	11	92	8	100	1	0	1
37	Nagpur Railway	46	0	46	0	0	0	73	1	74	0	0	0
*	Railways Range	**104**	**0**	**104**	**15**	**0**	**15**	**612**	**24**	**636**	**2**	**0**	**2**
38	Nagpur Commr.	111	1	112	133	0	133	560	2	562	515	9	524
39	Pune Commr.	276	2	278	142	0	142	1115	5	1120	710	15	725
40	Thane Commr.	106	2	108	66	0	66	1279	24	1303	1609	39	1648
41	Mumbai Commr.	202	18	220	121	0	121	1598	12	1610	2025	49	2074
42	Nasik Commr.	45	0	45	60	0	60	197	2	199	280	4	284
43	Aurangabad Commr.	78	2	80	125	0	125	250	1	251	157	2	159
44	Solapur Commr.	20	0	20	5	0	5	33	6	39	76	0	76
45	Navi Mumbai	96	5	101	27	4	31	338	6	344	598	14	612
46	Amravati Commr.	4	0	4	0	0	0	52	2	54	86	2	88
*	**Total of Commrs.**	**938**	**30**	**968**	**679**	**4**	**683**	**5422**	**60**	**5482**	**6056**	**134**	**6190**
**	**Total**	**3589**	**96**	**3685**	**1375**	**12**	**1387**	**9347**	**168**	**9515**	**10852**	**234**	**11086**

तक्ता क्र. ६५ (चालू)

सन २०१५ मध्ये भा.दं.वि. गुन्ह्यांमधील घटक-निहाय अटक झालेले आरोपी (लिंग व गुन्हे शीर्ष-निहाय)

TABLE NO. 65 (contd.)

Unit-Wise Persons Arrested Under I.P.C. Crime During 2015 (Gender And Crimehead-Wise)

Sr. No.	Unit	Criminal Trespass/Burglary (Section 457 To 460 IPC)						Theft (Section 379 To 380 IPC)					
		Criminal Trespass/Burglary (Section 457 & 458 IPC)			House Trespass & House Breaking (Section 459 & 460 IPC)			Total (Auto Theft +Other)			Auto Theft		
		Male	Female	Total	Male	Female	Total	Male	Female	Total	Male	Female	Total
1	2	75	76	77	78	79	80	81	82	83	84	85	86
1	Akola	95	0	95	42	0	42	747	3	750	198	0	198
2	Amravati Rural	49	0	49	14	0	14	323	4	327	29	0	29
3	Buldhana	90	3	93	32	3	35	520	29	549	93	1	94
4	Yavatmal	98	0	98	45	3	48	719	8	727	54	0	54
5	Washim	31	0	31	6	0	6	137	15	152	15	0	15
*	**Amaravati Range**	**363**	**3**	**366**	**139**	**6**	**145**	**2446**	**59**	**2505**	**389**	**1**	**390**
6	Aurangabad Rural	90	0	90	23	0	23	635	8	643	48	0	48
7	Jalna	242	0	242	105	0	105	458	7	465	202	0	202
8	Beed	91	0	91	22	0	22	388	21	409	85	0	85
9	Osmanabad	116	0	116	32	0	32	233	36	269	35	0	35
*	**A'bad Range**	**539**	**0**	**539**	**182**	**0**	**182**	**1714**	**72**	**1786**	**370**	**0**	**370**
10	Nanded	142	0	142	29	1	30	386	14	400	93	0	93
11	Latur	29	0	29	123	0	123	144	11	155	73	0	73
12	Parbhani	67	0	67	15	0	15	416	3	419	80	0	80
13	Hingoli	56	2	58	20	0	20	105	10	115	13	0	13
*	**Nanded Range**	**294**	**2**	**296**	**187**	**1**	**188**	**1051**	**38**	**1089**	**259**	**0**	**259**
14	Kolhapur	219	14	233	44	1	45	464	29	493	293	0	293
15	Pune Rural	166	7	173	16	2	18	811	18	829	247	0	247
16	Sangli	149	1	150	12	0	12	481	14	495	172	0	172
17	Satara	115	7	122	11	4	15	755	22	777	178	0	178
18	Solapur Rural	208	2	210	26	0	26	940	12	952	286	0	286
*	**Kolhapur Range**	**857**	**31**	**888**	**109**	**7**	**116**	**3451**	**95**	**3546**	**1176**	**0**	**1176**
19	Bhandara	77	2	79	21	2	23	322	10	332	22	0	22
20	Chandrapur	110	0	110	27	0	27	477	10	487	60	0	60
21	Nagpur Rural	68	2	70	19	0	19	746	12	758	93	0	93
22	Wardha	61	0	61	32	0	32	409	7	416	52	0	52
*	**Nagpur Range**	**316**	**4**	**320**	**99**	**2**	**101**	**1954**	**39**	**1993**	**227**	**0**	**227**
23	Gadchiroli	43	3	46	1	0	1	44	4	48	19	0	19
24	Gondia	86	0	86	13	0	13	272	3	275	33	2	35
*	**Gadchiroli Range**	**129**	**3**	**132**	**14**	**0**	**14**	**316**	**7**	**323**	**52**	**2**	**54**
25	Ahmednagar	32	7	39	186	17	203	1768	52	1820	194	0	194
26	Dhule	88	0	88	14	0	14	183	7	190	24	0	24
27	Jalgaon	101	2	103	23	0	23	666	27	693	162	0	162
28	Nasik Rural	139	2	141	58	1	59	579	15	594	115	0	115
29	Nandurbar	54	3	57	2	0	2	104	2	106	30	0	30
*	**Nasik Range**	**414**	**14**	**428**	**283**	**18**	**301**	**3300**	**103**	**3403**	**525**	**0**	**525**
30	Raigad	136	0	136	11	0	11	328	8	336	46	0	46
31	Ratnagiri	68	3	71	21	1	22	188	17	205	33	0	33
32	Sindhudurg	70	1	71	9	0	9	59	2	61	7	0	7
33	Thane Rural	117	0	117	67	0	67	409	10	419	55	0	55
34	Palghar	317	3	320	53	1	54	769	21	790	122	0	122
*	**Thane Range**	**708**	**7**	**715**	**161**	**2**	**163**	**1753**	**58**	**1811**	**263**	**0**	**263**
35	Mumbai Railway	1	0	1	0	0	0	1699	156	1855	0	0	0
36	Pune Railway	0	0	0	1	0	1	247	34	281	4	0	4
37	Nagpur Railway	0	0	0	0	0	0	479	25	504	2	0	2
*	Railways Range	**1**	**0**	**1**	**1**	**0**	**1**	**2425**	**215**	**2640**	**6**	**0**	**6**
38	Nagpur Commr.	407	2	409	108	7	115	1336	23	1359	577	0	577
39	Pune Commr.	551	12	563	159	3	162	1948	79	2027	992	1	993
40	Thane Commr.	1152	20	1172	457	19	476	2564	44	2608	1235	0	1235
41	Mumbai Commr.	1729	39	1768	296	10	306	4045	188	4233	1061	7	1068
42	Nasik Commr.	264	4	268	16	0	16	517	9	526	256	1	257
43	Aurangabad Commr.	126	2	128	31	0	31	678	17	695	274	0	274
44	Solapur Commr.	67	0	67	9	0	9	288	0	288	40	0	40
45	Navi Mumbai	438	8	446	160	6	166	849	8	857	274	0	274
46	Amravati Commr.	54	0	54	32	2	34	385	29	414	84	0	84
*	**Total of Commrs.**	**4788**	**87**	**4875**	**1268**	**47**	**1315**	**12610**	**397**	**13007**	**4793**	**9**	**4802**
**	**Total**	**8409**	**151**	**8560**	**2443**	**83**	**2526**	**31020**	**1083**	**32103**	**8060**	**12**	**8072**

तक्ता क्र. ६५ (चालू)

सन २०१५ मध्ये भा.दं.वि. गुन्ह्यांमधील घटक-निहाय अटक झालेले आरोपी (लिंग व गुन्हे शीर्ष-निहाय)

TABLE NO. 65 (contd.)

Unit-Wise Persons Arrested Under I.P.C. Crime During 2015 (Gender And Crimehead-Wise)

Sr. No.	Unit	Theft (Section 379 To 380 IPC)			Unlawful Assembly (Section 143,144 & 145 IPC)			Riots (Section 147, 148, 149, 150 & 151 IPC)					
		Other Theft						Total Riots			Communal		
		Male	Female	Total	Male	Female	Total	Male	Female	Total	Male	Female	Total
1	2	87	88	89	90	91	92	93	94	95	96	97	98
1	Akola	549	3	552	87	0	87	320	14	334	36	4	40
2	Amravati Rural	294	4	298	122	0	122	119	25	144	0	0	0
3	Buldhana	427	28	455	307	68	375	1173	197	1370	164	10	174
4	Yavatmal	665	8	673	270	12	282	809	111	920	164	20	184
5	Washim	122	15	137	130	18	148	587	37	624	236	8	244
*	**Amaravati Range**	**2057**	**58**	**2115**	**916**	**98**	**1014**	**3008**	**384**	**3392**	**600**	**42**	**642**
6	Aurangabad Rural	587	8	595	172	5	177	1500	274	1774	0	0	0
7	Jalna	256	7	263	104	25	129	1108	33	1141	0	0	0
8	Beed	303	21	324	45	0	45	1802	215	2017	0	0	0
9	Osmanabad	198	36	234	172	12	184	1237	161	1398	39	0	39
*	**A'bad Range**	**1344**	**72**	**1416**	**493**	**42**	**535**	**5647**	**683**	**6330**	**39**	**0**	**39**
10	Nanded	293	14	307	130	4	134	1291	106	1397	11	0	11
11	Latur	71	11	82	197	12	209	991	53	1044	0	0	0
12	Parbhani	336	3	339	203	6	209	1072	70	1142	0	0	0
13	Hingoli	92	10	102	53	7	60	806	102	908	0	0	0
*	**Nanded Range**	**792**	**38**	**830**	**583**	**29**	**612**	**4160**	**331**	**4491**	**11**	**0**	**11**
14	Kolhapur	171	29	200	24	0	24	997	156	1153	0	0	0
15	Pune Rural	564	18	582	116	79	195	2531	147	2678	0	0	0
16	Sangli	309	14	323	148	1	149	1640	142	1782	0	0	0
17	Satara	577	22	599	7	0	7	2003	251	2254	0	0	0
18	Solapur Rural	654	12	666	30	0	30	2224	90	2314	24	0	24
*	**Kolhapur Range**	**2275**	**95**	**2370**	**325**	**80**	**405**	**9395**	**786**	**10181**	**24**	**0**	**24**
19	Bhandara	300	10	310	36	16	52	79	6	85	0	0	0
20	Chandrapur	417	10	427	276	77	353	250	1	251	0	0	0
21	Nagpur Rural	653	12	665	94	5	99	284	12	296	0	0	0
22	Wardha	357	7	364	68	8	76	213	2	215	0	0	0
*	**Nagpur Range**	**1727**	**39**	**1766**	**474**	**106**	**580**	**826**	**21**	**847**	**0**	**0**	**0**
23	Gadchiroli	25	4	29	8	0	8	105	7	112	0	0	0
24	Gondia	239	1	240	39	1	40	54	0	54	0	0	0
*	**Gadchiroli Range**	**264**	**5**	**269**	**47**	**1**	**48**	**159**	**7**	**166**	**0**	**0**	**0**
25	Ahmednagar	1574	52	1626	302	57	359	2534	361	2895	0	0	0
26	Dhule	159	7	166	33	0	33	865	62	927	0	0	0
27	Jalgaon	504	27	531	27	0	27	1728	226	1954	213	0	213
28	Nasik Rural	464	15	479	704	147	851	1802	288	2090	0	0	0
29	Nandurbar	74	2	76	0	0	0	509	46	555	27	11	38
*	**Nasik Range**	**2775**	**103**	**2878**	**1066**	**204**	**1270**	**7438**	**983**	**8421**	**240**	**11**	**251**
30	Raigad	282	8	290	266	41	307	819	124	943	28	0	28
31	Ratnagiri	155	17	172	26	1	27	742	114	856	21	0	21
32	Sindhudurg	52	2	54	56	4	60	279	13	292	0	0	0
33	Thane Rural	354	10	364	31	1	32	904	94	998	0	0	0
34	Palghar	647	21	668	83	4	87	969	113	1082	0	0	0
*	**Thane Range**	**1490**	**58**	**1548**	**462**	**51**	**513**	**3713**	**458**	**4171**	**49**	**0**	**49**
35	Mumbai Railway	1699	156	1855	36	1	37	20	4	24	0	0	0
36	Pune Railway	243	34	277	0	0	0	11	1	12	0	0	0
37	Nagpur Railway	477	25	502	0	0	0	43	0	43	0	0	0
*	Railways Range	**2419**	**215**	**2634**	**36**	**1**	**37**	**74**	**5**	**79**	**0**	**0**	**0**
38	Nagpur Commr.	759	23	782	69	29	98	676	69	745	0	0	0
39	Pune Commr.	956	78	1034	266	47	313	1389	142	1531	0	0	0
40	Thane Commr.	1329	44	1373	264	28	292	1243	113	1356	0	0	0
41	Mumbai Commr.	2984	181	3165	125	42	167	1418	204	1622	0	0	0
42	Nasik Commr.	261	8	269	19	2	21	467	42	509	0	0	0
43	Aurangabad Commr.	404	17	421	241	13	254	748	46	794	0	0	0
44	Solapur Commr.	248	0	248	182	0	182	330	21	351	12	0	12
45	Navi Mumbai	575	8	583	24	0	24	578	124	702	0	0	0
46	Amravati Commr.	301	29	330	534	41	575	95	4	99	0	0	0
*	**Total of Commrs.**	**7817**	**388**	**8205**	**1724**	**202**	**1926**	**6944**	**765**	**7709**	**12**	**0**	**12**
**	**Total**	**22960**	**1071**	**24031**	**6126**	**814**	**6940**	**41364**	**4423**	**45787**	**975**	**53**	**1028**

तक्ता क्र. ६५ (चालू)

सन २०१५ मध्ये भा.दं.वि. गुन्ह्यांमधील घटक-निहाय अटक झालेले आरोपी (लिंग व गुन्हे शीर्ष-निहाय)

TABLE NO. 65 (contd.)

Unit-Wise Persons Arrested Under I.P.C. Crime During 2015 (Gender And Crimehead-Wise)

Sr. No.	Unit	Riots (Section 147, 148, 149, 150 & 151 IPC)											
		Industrial			Political			Total Caste conflict Riots					
								(Total)			SC/STs Vs. Non-SCs/STs		
		Male	Female	Total	Male	Female	Total	Male	Female	Total	Male	Female	Total
1	2	99	100	101	102	103	104	105	106	107	108	109	110
1	Akola	0	0	0	0	0	0	6	0	6	6	0	6
2	Amravati Rural	0	0	0	0	0	0	0	0	0	0	0	0
3	Buldhana	0	0	0	0	0	0	47	6	53	47	6	53
4	Yavatmal	11	0	11	13	0	13	364	45	409	18	0	18
5	Washim	0	0	0	0	0	0	0	0	0	0	0	0
*	**Amaravati Range**	**11**	**0**	**11**	**13**	**0**	13	**417**	**51**	**468**	**71**	**6**	**77**
6	Aurangabad Rural	0	0	0	0	0	0	13	0	13	13	0	13
7	Jalna	0	0	0	0	0	0	0	0	0	0	0	0
8	Beed	0	0	0	0	0	0	59	5	64	59	5	64
9	Osmanabad	0	0	0	0	0	0	0	0	0	0	0	0
*	**A'bad Range**	**0**	**0**	**0**	**0**	**0**	0	**72**	**5**	**77**	**72**	**5**	**77**
10	Nanded	0	0	0	0	0	0	142	3	145	142	3	145
11	Latur	0	0	0	0	0	0	97	0	97	0	0	0
12	Parbhani	0	0	0	0	0	0	42	2	44	42	2	44
13	Hingoli	0	0	0	0	0	0	0	0	0	0	0	0
*	**Nanded Range**	**0**	**0**	**0**	**0**	**0**	0	**281**	**5**	**286**	**184**	**5**	**189**
14	Kolhapur	0	0	0	106	12	118	21	7	28	21	7	28
15	Pune Rural	153	19	172	84	4	88	0	0	0	0	0	0
16	Sangli	0	0	0	14	0	14	0	0	0	0	0	0
17	Satara	0	0	0	100	12	112	0	0	0	0	0	0
18	Solapur Rural	0	0	0	0	0	0	116	9	125	116	9	125
*	**Kolhapur Range**	**153**	**19**	**172**	**304**	**28**	332	**137**	**16**	**153**	**137**	**16**	**153**
19	Bhandara	0	0	0	0	0	0	0	0	0	0	0	0
20	Chandrapur	0	0	0	0	0	0	0	0	0	0	0	0
21	Nagpur Rural	0	0	0	0	0	0	0	0	0	0	0	0
22	Wardha	0	0	0	0	0	0	0	0	0	0	0	0
*	**Nagpur Range**	**0**	**0**	**0**	**0**	**0**	0	**0**	**0**	**0**	**0**	**0**	**0**
23	Gadchiroli	0	0	0	4	0	4	0	0	0	0	0	0
24	Gondia	0	0	0	0	0	0	0	0	0	0	0	0
*	**Gadchiroli Range**	**0**	**0**	**0**	**4**	**0**	4	**0**	**0**	**0**	**0**	**0**	**0**
25	Ahmednagar	0	0	0	0	0	0	0	0	0	0	0	0
26	Dhule	0	0	0	12	0	12	66	1	67	66	1	67
27	Jalgaon	0	0	0	38	0	38	0	0	0	0	0	0
28	Nasik Rural	0	0	0	0	0	0	0	0	0	0	0	0
29	Nandurbar	0	0	0	0	0	0	28	2	30	28	2	30
*	**Nasik Range**	**0**	**0**	**0**	**50**	**0**	50	**94**	**3**	**97**	**94**	**3**	**97**
30	Raigad	5	0	5	17	7	24	48	7	55	48	7	55
31	Ratnagiri	0	0	0	164	2	166	0	0	0	0	0	0
32	Sindhudurg	0	0	0	0	0	0	0	0	0	0	0	0
33	Thane Rural	0	0	0	0	0	0	28	0	28	28	0	28
34	Palghar	0	0	0	72	0	72	0	0	0	0	0	0
*	**Thane Range**	**5**	**0**	**5**	**253**	**9**	262	**76**	**7**	**83**	**76**	**7**	**83**
35	Mumbai Railway	0	0	0	0	0	0	0	0	0	0	0	0
36	Pune Railway	0	0	0	0	0	0	0	0	0	0	0	0
37	Nagpur Railway	0	0	0	0	0	0	0	0	0	0	0	0
*	Railways Range	**0**	**0**	**0**	**0**	**0**	0	**0**	**0**	**0**	**0**	**0**	**0**
38	Nagpur Commr.	0	0	0	0	0	0	0	0	0	0	0	0
39	Pune Commr.	0	0	0	0	0	0	0	0	0	0	0	0
40	Thane Commr.	0	0	0	20	0	20	0	0	0	0	0	0
41	Mumbai Commr.	28	0	28	4	1	5	16	7	23	2	0	2
42	Nasik Commr.	166	0	166	5	0	5	0	0	0	0	0	0
43	Aurangabad Commr.	0	0	0	0	0	0	19	3	22	0	0	0
44	Solapur Commr.	0	0	0	0	0	0	6	0	6	6	0	6
45	Navi Mumbai	0	0	0	16	0	16	0	0	0	0	0	0
46	Amravati Commr.	0	0	0	4	0	4	0	0	0	0	0	0
*	**Total of Commrs.**	**194**	**0**	**194**	**49**	**1**	50	**41**	**10**	**51**	**8**	**0**	**8**
**	**Total**	**363**	**19**	**382**	**673**	**38**	**711**	**1118**	**97**	**1215**	**642**	**42**	**684**

तक्ता क्र. ६५ (चालू)

सन २०१५ मध्ये भा.दं.वि. गुन्ह्यांमधील घटक-निहाय अटक झालेले आरोपी (लिंग व गुन्हे शीर्ष-निहाय)

TABLE NO. 65 (contd.)

Unit-Wise Persons Arrested Under I.P.C. Crime During 2015 (Gender And Crimehead-Wise)

Sr. No.	Unit	Riots (Section 147, 148, 149, 150 & 151 IPC)											
		Total Caste conflict Riots			Agrarian			Students			Sectarian		
		Others											
		Male	Female	Total	Male	Female	Total	Male	Female	Total	Male	Female	Total
1	2	111	112	113	114	115	116	117	118	119	120	121	122
1	Akola	0	0	0	0	0	0	0	0	0	0	0	0
2	Amravati Rural	0	0	0	0	0	0	0	0	0	0	0	0
3	Buldhana	0	0	0	0	0	0	0	0	0	0	0	0
4	Yavatmal	346	45	391	0	0	0	0	0	0	0	0	0
5	Washim	0	0	0	0	0	0	0	0	0	0	0	0
*	**Amaravati Range**	**346**	**45**	**391**	**0**	**0**	**0**	**0**	**0**	**0**	**0**	**0**	**0**
6	Aurangabad Rural	0	0	0	0	0	0	0	0	0	0	0	0
7	Jalna	0	0	0	0	0	0	0	0	0	0	0	0
8	Beed	0	0	0	51	0	51	0	0	0	0	0	0
9	Osmanabad	0	0	0	172	30	202	0	0	0	0	0	0
*	**A'bad Range**	**0**	**0**	**0**	**223**	**30**	**253**	**0**	**0**	**0**	**0**	**0**	**0**
10	Nanded	0	0	0	0	0	0	0	0	0	0	0	0
11	Latur	97	0	97	0	0	0	0	0	0	0	0	0
12	Parbhani	0	0	0	0	0	0	0	0	0	0	0	0
13	Hingoli	0	0	0	0	0	0	0	0	0	0	0	0
*	**Nanded Range**	**97**	**0**	**97**	**0**	**0**	**0**	**0**	**0**	**0**	**0**	**0**	**0**
14	Kolhapur	0	0	0	0	0	0	0	0	0	0	0	0
15	Pune Rural	0	0	0	0	0	0	0	0	0	0	0	0
16	Sangli	0	0	0	0	0	0	0	0	0	0	0	0
17	Satara	0	0	0	0	0	0	0	0	0	0	0	0
18	Solapur Rural	0	0	0	0	0	0	0	0	0	0	0	0
*	**Kolhapur Range**	**0**	**0**	**0**	**0**	**0**	**0**	**0**	**0**	**0**	**0**	**0**	**0**
19	Bhandara	0	0	0	0	0	0	0	0	0	0	0	0
20	Chandrapur	0	0	0	0	0	0	0	0	0	0	0	0
21	Nagpur Rural	0	0	0	0	0	0	0	0	0	0	0	0
22	Wardha	0	0	0	0	0	0	0	0	0	0	0	0
*	**Nagpur Range**	**0**	**0**	**0**	**0**	**0**	**0**	**0**	**0**	**0**	**0**	**0**	**0**
23	Gadchiroli	0	0	0	0	0	0	0	0	0	0	0	0
24	Gondia	0	0	0	0	0	0	0	0	0	0	0	0
*	**Gadchiroli Range**	**0**	**0**	**0**	**0**	**0**	**0**	**0**	**0**	**0**	**0**	**0**	**0**
25	Ahmednagar	0	0	0	0	0	0	0	0	0	0	0	0
26	Dhule	0	0	0	63	0	63	0	0	0	0	0	0
27	Jalgaon	0	0	0	0	0	0	0	0	0	0	0	0
28	Nasik Rural	0	0	0	37	3	40	0	0	0	0	0	0
29	Nandurbar	0	0	0	31	1	32	0	0	0	0	0	0
*	**Nasik Range**	**0**	**0**	**0**	**131**	**4**	**135**	**0**	**0**	**0**	**0**	**0**	**0**
30	Raigad	0	0	0	9	2	11	0	0	0	0	0	0
31	Ratnagiri	0	0	0	7	0	7	0	0	0	0	0	0
32	Sindhudurg	0	0	0	0	0	0	0	0	0	0	0	0
33	Thane Rural	0	0	0	15	0	15	0	0	0	0	0	0
34	Palghar	0	0	0	73	13	86	0	0	0	0	0	0
*	**Thane Range**	**0**	**0**	**0**	**104**	**15**	**119**	**0**	**0**	**0**	**0**	**0**	**0**
35	Mumbai Railway	0	0	0	0	0	0	0	0	0	0	0	0
36	Pune Railway	0	0	0	0	0	0	0	0	0	0	0	0
37	Nagpur Railway	0	0	0	0	0	0	0	0	0	0	0	0
*	Railways Range	**0**	**0**	**0**	**0**	**0**	**0**	**0**	**0**	**0**	**0**	**0**	**0**
38	Nagpur Commr.	0	0	0	0	0	0	0	0	0	0	0	0
39	Pune Commr.	0	0	0	0	0	0	0	0	0	0	0	0
40	Thane Commr.	0	0	0	0	0	0	0	0	0	0	0	0
41	Mumbai Commr.	14	7	21	0	0	0	0	0	0	0	0	0
42	Nasik Commr.	0	0	0	0	0	0	0	0	0	0	0	0
43	Aurangabad Commr.	19	3	22	0	0	0	0	0	0	0	0	0
44	Solapur Commr.	0	0	0	8	0	8	0	0	0	0	0	0
45	Navi Mumbai	0	0	0	0	0	0	0	0	0	0	0	0
46	Amravati Commr.	0	0	0	0	0	0	0	0	0	0	0	0
*	**Total of Commrs.**	**33**	**10**	**43**	**8**	**0**	**8**	**0**	**0**	**0**	**0**	**0**	**0**
**	**Total**	**476**	**55**	**531**	**466**	**49**	**515**	**0**	**0**	**0**	**0**	**0**	**0**

तक्ता क्र. ६५ (चालू)

सन २०१५ मध्ये भा.दं.वि. गुन्ह्यांमधील घटक-निहाय अटक झालेले आरोपी (लिंग व गुन्हे शीर्ष-निहाय)

TABLE NO. 65 (contd.)

Unit-Wise Persons Arrested Under I.P.C. Crime During 2015 (Gender And Crimehead-Wise)

Sr. No.	Unit	Riots (Section 147, 148, 149, 150 & 151 IPC)			Criminal Breach of Trust (Sec. 406-409 IPC)			Cheating (Sec. 419,420 IPC)			Forgery (Section 468 & 471 IPC)		
		Others (Other than mentioned in previous column)											
		Male	Female	Total	Male	Female	Total	Male	Female	Total	Male	Female	Total
1	2	123	124	125	126	127	128	129	130	131	132	133	134
1	Akola	278	10	288	13	0	13	96	0	96	3	0	3
2	Amravati Rural	119	25	144	4	0	4	35	0	35	0	0	0
3	Buldhana	962	181	1143	85	0	85	266	19	285	0	0	0
4	Yavatmal	257	46	303	32	1	33	192	2	194	0	0	0
5	Washim	351	29	380	1	0	1	44	7	51	0	0	0
*	**Amaravati Range**	**1967**	**291**	**2258**	**135**	**1**	**136**	**633**	**28**	**661**	**3**	**0**	**3**
6	Aurangabad Rural	1487	274	1761	6	0	6	95	7	102	2	0	2
7	Jalna	1108	33	1141	2	0	2	179	3	182	0	0	0
8	Beed	1692	210	1902	34	0	34	203	10	213	1	0	1
9	Osmanabad	1026	131	1157	27	0	27	170	12	182	0	0	0
*	**A'bad Range**	**5313**	**648**	**5961**	**69**	**0**	**69**	**647**	**32**	**679**	**3**	**0**	**3**
10	Nanded	1138	103	1241	48	1	49	80	4	84	48	11	59
11	Latur	894	53	947	21	0	21	117	0	117	0	0	0
12	Parbhani	1030	68	1098	10	0	10	198	9	207	0	0	0
13	Hingoli	806	102	908	8	0	8	23	4	27	0	0	0
*	**Nanded Range**	**3868**	**326**	**4194**	**87**	**1**	**88**	**418**	**17**	**435**	**48**	**11**	**59**
14	Kolhapur	870	137	1007	59	5	64	233	31	264	0	0	0
15	Pune Rural	2294	124	2418	10	1	11	327	7	334	0	0	0
16	Sangli	1626	142	1768	20	2	22	183	24	207	1	0	1
17	Satara	1903	239	2142	85	1	86	289	17	306	9	1	10
18	Solapur Rural	2084	81	2165	66	3	69	43	6	49	94	13	107
*	**Kolhapur Range**	**8777**	**723**	**9500**	**240**	**12**	**252**	**1075**	**85**	**1160**	**104**	**14**	**118**
19	Bhandara	79	6	85	10	1	11	42	2	44	0	0	0
20	Chandrapur	250	1	251	63	9	72	304	9	313	0	0	0
21	Nagpur Rural	284	12	296	28	0	28	80	0	80	0	0	0
22	Wardha	213	2	215	23	0	23	75	0	75	4	0	4
*	**Nagpur Range**	**826**	**21**	**847**	**124**	**10**	**134**	**501**	**11**	**512**	**4**	**0**	**4**
23	Gadchiroli	101	7	108	4	0	4	63	6	69	0	0	0
24	Gondia	54	0	54	55	0	55	80	7	87	0	0	0
*	**Gadchiroli Range**	**155**	**7**	**162**	**59**	**0**	**59**	**143**	**13**	**156**	**0**	**0**	**0**
25	Ahmednagar	2534	361	2895	32	6	38	256	28	284	0	0	0
26	Dhule	724	61	785	23	1	24	120	21	141	0	0	0
27	Jalgaon	1477	226	1703	254	0	254	280	9	289	0	0	0
28	Nasik Rural	1765	285	2050	25	4	29	227	28	255	0	0	0
29	Nandurbar	423	32	455	41	2	43	124	3	127	0	0	0
*	**Nasik Range**	**6923**	**965**	**7888**	**375**	**13**	**388**	**1007**	**89**	**1096**	**0**	**0**	**0**
30	Raigad	712	108	820	29	2	31	161	16	177	0	0	0
31	Ratnagiri	550	112	662	32	4	36	71	10	81	3	0	3
32	Sindhudurg	279	13	292	35	0	35	23	0	23	19	0	19
33	Thane Rural	861	94	955	19	1	20	201	27	228	0	0	0
34	Palghar	824	100	924	54	2	56	173	20	193	18	0	18
*	**Thane Range**	**3226**	**427**	**3653**	**169**	**9**	**178**	**629**	**73**	**702**	**40**	**0**	**40**
35	Mumbai Railway	20	4	24	12	0	12	89	8	97	0	0	0
36	Pune Railway	11	1	12	0	0	0	5	0	5	0	0	0
37	Nagpur Railway	43	0	43	3	0	3	2	0	2	0	0	0
*	Railways Range	**74**	**5**	**79**	**15**	**0**	**15**	**96**	**8**	**104**	**0**	**0**	**0**
38	Nagpur Commr.	676	69	745	72	1	73	325	27	352	59	1	60
39	Pune Commr.	1389	142	1531	85	10	95	691	66	757	6	0	6
40	Thane Commr.	1223	113	1336	131	8	139	966	78	1044	7	0	7
41	Mumbai Commr.	1370	196	1566	520	40	560	1338	112	1450	703	69	772
42	Nasik Commr.	296	42	338	31	2	33	137	9	146	0	0	0
43	Aurangabad Commr.	729	43	772	39	0	39	276	11	287	2	0	2
44	Solapur Commr.	304	21	325	14	0	14	97	0	97	0	0	0
45	Navi Mumbai	562	124	686	145	0	145	640	59	699	11	0	11
46	Amravati Commr.	91	4	95	43	0	43	78	12	90	67	4	71
*	**Total of Commrs.**	**6640**	**754**	**7394**	**1080**	**61**	**1141**	**4548**	**374**	**4922**	**855**	**74**	**929**
**	**Total**	**37769**	**4167**	**41936**	**2353**	**107**	**2460**	**9697**	**730**	**10427**	**1057**	**99**	**1156**

तक्ता क्र. ६५ (चालू)

सन २०१५ मध्ये भा.दं.वि. गुन्ह्यांमधील घटक-निहाय अटक झालेले आरोपी (लिंग व गुन्हे शीर्ष-निहाय)

TABLE NO. 65 (contd.)

Unit-Wise Persons Arrested Under I.P.C. Crime During 2015 (Gender And Crimehead-Wise)

Sr. No.	Unit	Counterfeiting (Section 231 - 254 And 489-A To 489-E IPC)											
		Counterfeiting (Total)			Offences Related To Counterfeit Coin (Section 231-235,237, 238-240 & 242-243 IPC)			Counterfeiting Government Stamp (Section 255 IPC)			Counterfeit Currency & Bank Notes (Section 489-A To 489-E IPC)		
											Counterfeit Currency & Bank Notes (Total)		
		Male	Female	Total	Male	Female	Total	Male	Female	Total	Male	Female	Total
1	2	135	136	137	138	139	140	141	142	143	144	145	146
1	Akola	3	0	3	0	0	0	0	0	0	3	0	3
2	Amravati Rural	0	0	0	0	0	0	0	0	0	0	0	0
3	Buldhana	1	0	1	0	0	0	0	0	0	1	0	1
4	Yavatmal	0	0	0	0	0	0	0	0	0	0	0	0
5	Washim	1	0	1	0	0	0	0	0	0	1	0	1
*	**Amaravati Range**	**5**	**0**	**5**	**0**	**0**	**0**	**0**	**0**	**0**	**5**	**0**	**5**
6	Aurangabad Rural	0	0	0	0	0	0	0	0	0	0	0	0
7	Jalna	0	0	0	0	0	0	0	0	0	0	0	0
8	Beed	0	0	0	0	0	0	0	0	0	0	0	0
9	Osmanabad	2	0	2	0	0	0	0	0	0	2	0	2
*	**A'bad Range**	**2**	**0**	**2**	**0**	**0**	**0**	**0**	**0**	**0**	**2**	**0**	**2**
10	Nanded	2	0	2	0	0	0	0	0	0	2	0	2
11	Latur	0	0	0	0	0	0	0	0	0	0	0	0
12	Parbhani	4	0	4	0	0	0	0	0	0	4	0	4
13	Hingoli	0	0	0	0	0	0	0	0	0	0	0	0
*	**Nanded Range**	**6**	**0**	**6**	**0**	**0**	**0**	**0**	**0**	**0**	**6**	**0**	**6**
14	Kolhapur	0	0	0	0	0	0	0	0	0	0	0	0
15	Pune Rural	6	1	7	0	0	0	0	0	0	6	1	7
16	Sangli	11	0	11	0	0	0	0	0	0	11	0	11
17	Satara	1	0	1	0	0	0	0	0	0	1	0	1
18	Solapur Rural	4	0	4	0	0	0	0	0	0	4	0	4
*	**Kolhapur Range**	**22**	**1**	**23**	**0**	**0**	**0**	**0**	**0**	**0**	**22**	**1**	**23**
19	Bhandara	0	0	0	0	0	0	0	0	0	0	0	0
20	Chandrapur	2	0	2	0	0	0	0	0	0	2	0	2
21	Nagpur Rural	2	1	3	0	0	0	0	0	0	2	1	3
22	Wardha	7	0	7	0	0	0	0	0	0	7	0	7
*	**Nagpur Range**	**11**	**1**	**12**	**0**	**0**	**0**	**0**	**0**	**0**	**11**	**1**	**12**
23	Gadchiroli	0	0	0	0	0	0	0	0	0	0	0	0
24	Gondia	0	0	0	0	0	0	0	0	0	0	0	0
*	**Gadchiroli Range**	**0**	**0**	**0**	**0**	**0**	**0**	**0**	**0**	**0**	**0**	**0**	**0**
25	Ahmednagar	1	0	1	0	0	0	0	0	0	1	0	1
26	Dhule	0	0	0	0	0	0	0	0	0	0	0	0
27	Jalgaon	0	0	0	0	0	0	0	0	0	0	0	0
28	Nasik Rural	5	0	5	0	0	0	0	0	0	5	0	5
29	Nandurbar	0	0	0	0	0	0	0	0	0	0	0	0
*	**Nasik Range**	**6**	**0**	**6**	**0**	**0**	**0**	**0**	**0**	**0**	**6**	**0**	**6**
30	Raigad	3	0	3	0	0	0	0	0	0	3	0	3
31	Ratnagiri	0	0	0	0	0	0	0	0	0	0	0	0
32	Sindhudurg	0	0	0	0	0	0	0	0	0	0	0	0
33	Thane Rural	0	0	0	0	0	0	0	0	0	0	0	0
34	Palghar	3	1	4	0	0	0	0	0	0	3	1	4
*	**Thane Range**	**6**	**1**	**7**	**0**	**0**	**0**	**0**	**0**	**0**	**6**	**1**	**7**
35	Mumbai Railway	1	0	1	0	0	0	0	0	0	1	0	1
36	Pune Railway	0	0	0	0	0	0	0	0	0	0	0	0
37	Nagpur Railway	0	0	0	0	0	0	0	0	0	0	0	0
*	Railways Range	**1**	**0**	**1**	**0**	**0**	**0**	**0**	**0**	**0**	**1**	**0**	**1**
38	Nagpur Commr.	4	0	4	0	0	0	0	0	0	4	0	4
39	Pune Commr.	8	0	8	0	0	0	0	0	0	8	0	8
40	Thane Commr.	13	0	13	0	0	0	0	0	0	13	0	13
41	Mumbai Commr.	30	11	41	0	0	0	0	0	0	30	11	41
42	Nasik Commr.	0	0	0	0	0	0	0	0	0	0	0	0
43	Aurangabad Commr.	7	0	7	0	0	0	0	0	0	7	0	7
44	Solapur Commr.	7	0	7	0	0	0	0	0	0	7	0	7
45	Navi Mumbai	13	2	15	0	0	0	0	0	0	13	2	15
46	Amravati Commr.	2	0	2	0	0	0	0	0	0	2	0	2
*	**Total of Commrs.**	**84**	**13**	**97**	**0**	**0**	**0**	**0**	**0**	**0**	**84**	**13**	**97**
**	**Total**	**143**	**16**	**159**	**0**	**0**	**0**	**0**	**0**	**0**	**143**	**16**	**159**

तक्ता क्र. ६५ (चालू)

सन २०१५ मध्ये भा.दं.वि. गुन्ह्यांमधील घटक-निहाय अटक झालेले आरोपी (लिंग व गुन्हे शीर्ष-निहाय)

TABLE NO. 65 (contd.)

Unit-Wise Persons Arrested Under I.P.C. Crime During 2015 (Gender And Crimehead-Wise)

Sr. No.	Unit	Counterfeiting (Section 231 - 254 And 489-A To 489-E IPC)								
		Counterfeit Currency & Bank Notes (Section 489-A To 489-E IPC)								
		Counterfeiting Currency- Notes Or Bank Notes (Section 489A IPC)			Using As Genuine, Forged Or Counter-feiting Currency / Bank Notes (Section 489B IPC)			Possession Of Forged Or Counterfeiting Currency / Bank Notes (Section 489C IPC)		
		Male	Female	Total	Male	Female	Total	Male	Female	Total
1	2	147	148	149	150	151	152	153	154	155
1	Akola	0	0	0	3	0	3	0	0	0
2	Amravati Rural	0	0	0	0	0	0	0	0	0
3	Buldhana	0	0	0	1	0	1	0	0	0
4	Yavatmal	0	0	0	0	0	0	0	0	0
5	Washim	1	0	1	0	0	0	0	0	0
*	**Amaravati Range**	**1**	**0**	**1**	**4**	**0**	**4**	**0**	**0**	**0**
6	Aurangabad Rural	0	0	0	0	0	0	0	0	0
7	Jalna	0	0	0	0	0	0	0	0	0
8	Beed	0	0	0	0	0	0	0	0	0
9	Osmanabad	2	0	2	0	0	0	0	0	0
*	**A'bad Range**	**2**	**0**	**2**	**0**	**0**	**0**	**0**	**0**	**0**
10	Nanded	2	0	2	0	0	0	0	0	0
11	Latur	0	0	0	0	0	0	0	0	0
12	Parbhani	0	0	0	4	0	4	0	0	0
13	Hingoli	0	0	0	0	0	0	0	0	0
*	**Nanded Range**	**2**	**0**	**2**	**4**	**0**	**4**	**0**	**0**	**0**
14	Kolhapur	0	0	0	0	0	0	0	0	0
15	Pune Rural	0	0	0	2	1	3	4	0	4
16	Sangli	0	0	0	11	0	11	0	0	0
17	Satara	0	0	0	1	0	1	0	0	0
18	Solapur Rural	0	0	0	4	0	4	0	0	0
*	**Kolhapur Range**	**0**	**0**	**0**	**18**	**1**	**19**	**4**	**0**	**4**
19	Bhandara	0	0	0	0	0	0	0	0	0
20	Chandrapur	0	0	0	2	0	2	0	0	0
21	Nagpur Rural	2	1	3	0	0	0	0	0	0
22	Wardha	0	0	0	0	0	0	7	0	7
*	**Nagpur Range**	**2**	**1**	**3**	**2**	**0**	**2**	**7**	**0**	**7**
23	Gadchiroli	0	0	0	0	0	0	0	0	0
24	Gondia	0	0	0	0	0	0	0	0	0
*	**Gadchiroli Range**	**0**	**0**	**0**	**0**	**0**	**0**	**0**	**0**	**0**
25	Ahmednagar	1	0	1	0	0	0	0	0	0
26	Dhule	0	0	0	0	0	0	0	0	0
27	Jalgaon	0	0	0	0	0	0	0	0	0
28	Nasik Rural	5	0	5	0	0	0	0	0	0
29	Nandurbar	0	0	0	0	0	0	0	0	0
*	**Nasik Range**	**6**	**0**	**6**	**0**	**0**	**0**	**0**	**0**	**0**
30	Raigad	0	0	0	3	0	3	0	0	0
31	Ratnagiri	0	0	0	0	0	0	0	0	0
32	Sindhudurg	0	0	0	0	0	0	0	0	0
33	Thane Rural	0	0	0	0	0	0	0	0	0
34	Palghar	0	0	0	3	1	4	0	0	0
*	**Thane Range**	**0**	**0**	**0**	**6**	**1**	**7**	**0**	**0**	**0**
35	Mumbai Railway	0	0	0	1	0	1	0	0	0
36	Pune Railway	0	0	0	0	0	0	0	0	0
37	Nagpur Railway	0	0	0	0	0	0	0	0	0
*	Railways Range	**0**	**0**	**0**	**1**	**0**	**1**	**0**	**0**	**0**
38	Nagpur Commr.	4	0	4	0	0	0	0	0	0
39	Pune Commr.	8	0	8	0	0	0	0	0	0
40	Thane Commr.	13	0	13	0	0	0	0	0	0
41	Mumbai Commr.	4	0	4	16	8	24	10	3	13
42	Nasik Commr.	0	0	0	0	0	0	0	0	0
43	Aurangabad Commr.	7	0	7	0	0	0	0	0	0
44	Solapur Commr.	0	0	0	7	0	7	0	0	0
45	Navi Mumbai	3	0	3	9	0	9	1	2	3
46	Amravati Commr.	2	0	2	0	0	0	0	0	0
*	**Total of Commrs.**	**41**	**0**	**41**	**32**	**8**	**40**	**11**	**5**	**16**
**	**Total**	**54**	**1**	**55**	**67**	**10**	**77**	**22**	**5**	**27**

तक्ता क्र. ६५ (चालू)

सन २०१५ मध्ये भा.दं.वि. गुन्ह्यांमधील घटक-निहाय अटक झालेले आरोपी (लिंग व गुन्हे शीर्ष-निहाय)

TABLE NO. 65 (contd.)

Unit-Wise Persons Arrested Under I.P.C. Crime During 2015 (Gender And Crimehead-Wise)

Sr. No.	Unit	Counterfeiting (Section 231 - 254 And 489-A To 489-E IPC)						Arson (Section 436 IPC)			Grievous Hurt (325,326,326A & 326 B IPC)		
		Counterfeit Currency & Bank Notes (Section 489-A To 489-E IPC)									Grievous Hurt (Total)		
		Making Or Possessing Materials For Forged Or Counterfeiting Currency / Bank Notes (Section 489D IPC)			Making Or Using Documents Resembling Currency Notes / Bank Notes (Section 489 E IPC)								
		Male	Female	Total	Male	Female	Total	Male	Female	Total	Male	Female	Total
1	2	156	157	158	159	160	161	162	163	164	165	166	167
1	Akola	0	0	0	0	0	0	31	0	31	131	13	144
2	Amravati Rural	0	0	0	0	0	0	36	0	36	94	13	107
3	Buldhana	0	0	0	0	0	0	56	4	60	215	30	245
4	Yavatmal	0	0	0	0	0	0	40	1	41	199	12	211
5	Washim	0	0	0	0	0	0	4	2	6	200	27	227
*	**Amaravati Range**	**0**	**0**	**0**	**0**	**0**	**0**	**167**	**7**	**174**	**839**	**95**	**934**
6	Aurangabad Rural	0	0	0	0	0	0	24	0	24	198	18	216
7	Jalna	0	0	0	0	0	0	35	2	37	746	40	786
8	Beed	0	0	0	0	0	0	29	1	30	211	17	228
9	Osmanabad	0	0	0	0	0	0	25	0	25	159	45	204
*	**A'bad Range**	**0**	**0**	**0**	**0**	**0**	**0**	**113**	**3**	**116**	**1314**	**120**	**1434**
10	Nanded	0	0	0	0	0	0	51	0	51	362	35	397
11	Latur	0	0	0	0	0	0	38	0	38	91	0	91
12	Parbhani	0	0	0	0	0	0	61	1	62	401	39	440
13	Hingoli	0	0	0	0	0	0	21	0	21	139	14	153
*	**Nanded Range**	**0**	**0**	**0**	**0**	**0**	**0**	**171**	**1**	**172**	**993**	**88**	**1081**
14	Kolhapur	0	0	0	0	0	0	11	0	11	844	75	919
15	Pune Rural	0	0	0	0	0	0	24	1	25	315	31	346
16	Sangli	0	0	0	0	0	0	28	3	31	299	28	327
17	Satara	0	0	0	0	0	0	16	5	21	306	36	342
18	Solapur Rural	0	0	0	0	0	0	88	4	92	327	36	363
*	**Kolhapur Range**	**0**	**0**	**0**	**0**	**0**	**0**	**167**	**13**	**180**	**2091**	**206**	**2297**
19	Bhandara	0	0	0	0	0	0	12	0	12	64	12	76
20	Chandrapur	0	0	0	0	0	0	27	6	33	61	1	62
21	Nagpur Rural	0	0	0	0	0	0	36	2	38	136	10	146
22	Wardha	0	0	0	0	0	0	21	0	21	124	6	130
*	**Nagpur Range**	**0**	**0**	**0**	**0**	**0**	**0**	**96**	**8**	**104**	**385**	**29**	**414**
23	Gadchiroli	0	0	0	0	0	0	6	1	7	56	6	62
24	Gondia	0	0	0	0	0	0	10	0	10	78	0	78
*	**Gadchiroli Range**	**0**	**0**	**0**	**0**	**0**	**0**	**16**	**1**	**17**	**134**	**6**	**140**
25	Ahmednagar	0	0	0	0	0	0	82	4	86	366	26	392
26	Dhule	0	0	0	0	0	0	2	1	3	152	17	169
27	Jalgaon	0	0	0	0	0	0	28	0	28	271	6	277
28	Nasik Rural	0	0	0	0	0	0	27	0	27	776	118	894
29	Nandurbar	0	0	0	0	0	0	12	0	12	70	5	75
*	**Nasik Range**	**0**	**0**	**0**	**0**	**0**	**0**	**151**	**5**	**156**	**1635**	**172**	**1807**
30	Raigad	0	0	0	0	0	0	8	0	8	77	8	85
31	Ratnagiri	0	0	0	0	0	0	8	2	10	36	5	41
32	Sindhudurg	0	0	0	0	0	0	44	2	46	39	4	43
33	Thane Rural	0	0	0	0	0	0	14	0	14	541	43	584
34	Palghar	0	0	0	0	0	0	14	0	14	402	25	427
*	**Thane Range**	**0**	**0**	**0**	**0**	**0**	**0**	**88**	**4**	**92**	**1095**	**85**	**1180**
35	Mumbai Railway	0	0	0	0	0	0	0	0	0	15	0	15
36	Pune Railway	0	0	0	0	0	0	0	0	0	7	0	7
37	Nagpur Railway	0	0	0	0	0	0	0	0	0	33	0	33
*	Railways Range	**0**	**0**	**0**	**0**	**0**	**0**	**0**	**0**	**0**	**55**	**0**	**55**
38	Nagpur Commr.	0	0	0	0	0	0	22	0	22	296	13	309
39	Pune Commr.	0	0	0	0	0	0	52	0	52	1255	38	1293
40	Thane Commr.	0	0	0	0	0	0	43	1	44	679	44	723
41	Mumbai Commr.	0	0	0	0	0	0	37	0	37	2815	141	2956
42	Nasik Commr.	0	0	0	0	0	0	15	0	15	156	4	160
43	Aurangabad Commr.	0	0	0	0	0	0	37	0	37	114	10	124
44	Solapur Commr.	0	0	0	0	0	0	5	0	5	21	0	21
45	Navi Mumbai	0	0	0	0	0	0	13	0	13	201	14	215
46	Amravati Commr.	0	0	0	0	0	0	10	0	10	71	5	76
*	**Total of Commrs.**	**0**	**0**	**0**	**0**	**0**	**0**	**234**	**1**	**235**	**5608**	**269**	**5877**
**	**Total**	**0**	**0**	**0**	**0**	**0**	**0**	**1203**	**43**	**1246**	**14149**	**1070**	**15219**

तक्ता क्र. ६५ (चालू)

सन २०१५ मध्ये भा.दं.वि. गुन्ह्यांमधील घटक-निहाय अटक झालेले आरोपी (लिंग व गुन्हे शीर्ष-निहाय)

TABLE NO. 65 (contd.)

Unit-Wise Persons Arrested Under I.P.C. Crime During 2015 (Gender And Crimehead-Wise)

Sr. No.	Unit	Grievous Hurt (325,326,326A & 326 B IPC)									Dowry Deaths (Section 304-B IPC)		
		Grievous Hurt (Section 325 & 326 IPC)			Acid Attack (Section 326A IPC)			Attempt To Acid Attack (Section 326B IPC)					
		Male	Female	Total	Male	Female	Total	Male	Female	Total	Male	Female	Total
1	2	168	169	170	171	172	173	174	175	176	177	178	179
1	Akola	131	13	144	0	0	0	0	0	0	9	5	14
2	Amravati Rural	94	13	107	0	0	0	0	0	0	8	2	10
3	Buldhana	215	30	245	0	0	0	0	0	0	30	20	50
4	Yavatmal	199	12	211	0	0	0	0	0	0	35	15	50
5	Washim	200	27	227	0	0	0	0	0	0	18	5	23
*	**Amaravati Range**	**839**	**95**	**934**	**0**	**0**	**0**	**0**	**0**	**0**	**100**	**47**	**147**
6	Aurangabad Rural	198	18	216	0	0	0	0	0	0	38	17	55
7	Jalna	746	40	786	0	0	**0**	0	0	0	22	12	34
8	Beed	211	17	228	0	0	**0**	0	0	0	25	12	37
9	Osmanabad	159	45	204	0	0	**0**	0	0	0	10	9	19
*	**A'bad Range**	**1314**	**120**	**1434**	**0**	**0**	**0**	**0**	**0**	**0**	**95**	**50**	**145**
10	Nanded	361	35	396	1	0	**1**	0	0	0	27	11	38
11	Latur	91	0	91	0	0	**0**	0	0	0	32	0	32
12	Parbhani	401	39	440	0	0	**0**	0	0	0	27	13	40
13	Hingoli	139	14	153	0	0	**0**	0	0	0	2	2	4
*	**Nanded Range**	**992**	**88**	**1080**	**1**	**0**	**1**	**0**	**0**	**0**	**88**	**26**	**114**
14	Kolhapur	844	75	919	0	0	**0**	0	0	0	17	8	25
15	Pune Rural	315	31	346	0	0	**0**	0	0	0	7	5	12
16	Sangli	299	28	327	0	0	**0**	0	0	0	27	22	49
17	Satara	306	36	342	0	0	**0**	0	0	0	5	1	6
18	Solapur Rural	327	36	363	0	0	**0**	0	0	0	8	4	12
*	**Kolhapur Range**	**2091**	**206**	**2297**	**0**	**0**	**0**	**0**	**0**	**0**	**64**	**40**	**104**
19	Bhandara	64	12	76	0	0	**0**	0	0	0	0	0	0
20	Chandrapur	61	1	62	0	0	**0**	0	0	0	15	5	20
21	Nagpur Rural	136	10	146	0	0	**0**	0	0	0	1	0	1
22	Wardha	124	6	130	0	0	**0**	0	0	0	0	0	0
*	**Nagpur Range**	**385**	**29**	**414**	**0**	**0**	**0**	**0**	**0**	**0**	**16**	**5**	**21**
23	Gadchiroli	56	6	62	0	0	**0**	0	0	0	2	1	3
24	Gondia	78	0	78	0	0	**0**	0	0	0	0	0	0
*	**Gadchiroli Range**	**134**	**6**	**140**	**0**	**0**	**0**	**0**	**0**	**0**	**2**	**1**	**3**
25	Ahmednagar	364	26	390	2	0	**2**	0	0	0	22	14	36
26	Dhule	152	17	169	0	0	**0**	0	0	0	8	7	15
27	Jalgaon	271	4	275	0	2	**2**	0	0	0	2	0	2
28	Nasik Rural	776	118	894	0	0	**0**	0	0	0	35	18	53
29	Nandurbar	70	5	75	0	0	**0**	0	0	0	0	2	2
*	**Nasik Range**	**1633**	**170**	**1803**	**2**	**2**	**4**	**0**	**0**	**0**	**67**	**41**	**108**
30	Raigad	77	8	85	0	0	**0**	0	0	0	2	1	3
31	Ratnagiri	36	5	41	0	0	**0**	0	0	0	2	1	3
32	Sindhudurg	39	4	43	0	0	**0**	0	0	0	0	0	0
33	Thane Rural	541	43	584	0	0	**0**	0	0	0	5	1	6
34	Palghar	402	25	427	0	0	**0**	0	0	0	3	1	4
*	**Thane Range**	**1095**	**85**	**1180**	**0**	**0**	**0**	**0**	**0**	**0**	**12**	**4**	**16**
35	Mumbai Railway	15	0	15	0	0	0	0	0	0	0	0	0
36	Pune Railway	7	0	7	0	0	**0**	0	0	0	0	0	0
37	Nagpur Railway	33	0	33	0	0	**0**	0	0	0	0	0	0
*	Railways Range	**55**	**0**	**55**	**0**	**0**	**0**	**0**	**0**	**0**	**0**	**0**	**0**
38	Nagpur Commr.	295	13	308	0	0	**0**	1	0	1	14	10	24
39	Pune Commr.	1255	38	1293	0	0	**0**	0	0	0	19	13	32
40	Thane Commr.	679	44	723	0	0	**0**	0	0	0	15	2	17
41	Mumbai Commr.	2814	141	2955	1	0	**1**	0	0	0	12	9	21
42	Nasik Commr.	156	4	160	0	0	**0**	0	0	0	0	0	0
43	Aurangabad Commr.	114	10	124	0	0	**0**	0	0	0	2	1	3
44	Solapur Commr.	21	0	21	0	0	**0**	0	0	0	2	1	3
45	Navi Mumbai	201	14	215	0	0	**0**	0	0	0	18	9	27
46	Amravati Commr.	70	5	75	1	0	**1**	0	0	0	2	1	3
*	**Total of Commrs.**	**5605**	**269**	**5874**	**2**	**0**	**2**	**1**	**0**	**1**	**84**	**46**	**130**
**	**Total**	**14143**	**1068**	**15211**	**5**	**2**	**7**	**1**	**0**	**1**	**528**	**260**	**788**

तक्ता क्र. ६५ (चालू)

सन २०१५ मध्ये भा.दं.वि. गुन्ह्यांमधील घटक-निहाय अटक झालेले आरोपी (लिंग व गुन्हे शीर्ष-निहाय)

TABLE NO. 65 (contd.)

Unit-Wise Persons Arrested Under I.P.C. Crime During 2015 (Gender And Crimehead-Wise)

Sr. No.	Unit	Assault On Women With Intent To Outrage Her Modesty (Section 354 IPC)											
		Assault On Women With Intent To Outrage Her Modesty (Total)			Sexual Harassment (Section 354A IPC)			Asault Or Use Of Criminal Force To Women With Intent To Disrobe (Section 354B IPC)			Voyeurism(Section 354C IPC)		
		Male	Female	Total	Male	Female	Total	Male	Female	Total	Male	Female	Total
1	2	180	181	182	183	184	185	186	187	188	189	190	191
1	Akola	225	0	225	113	0	113	17	0	17	3	0	3
2	Amravati Rural	434	0	434	169	0	169	25	0	25	8	0	8
3	Buldhana	365	36	401	255	21	276	36	9	45	7	0	7
4	Yavatmal	512	13	525	256	5	261	44	0	44	2	0	2
5	Washim	234	11	245	234	11	245	0	0	0	0	0	0
*	**Amaravati Range**	**1770**	**60**	**1830**	**1027**	**37**	**1064**	**122**	**9**	**131**	**20**	**0**	**20**
6	Aurangabad Rural	264	11	275	75	3	78	19	0	19	1	0	1
7	Jalna	229	0	229	150	0	150	0	0	0	0	0	0
8	Beed	363	13	376	200	7	207	18	1	19	0	0	0
9	Osmanabad	138	5	143	78	0	78	7	0	7	2	0	2
*	**A'bad Range**	**994**	**29**	**1023**	**503**	**10**	**513**	**44**	**1**	**45**	**3**	**0**	**3**
10	Nanded	175	1	176	175	1	176	0	0	0	0	0	0
11	Latur	161	0	161	0	0	0	0	0	0	0	0	0
12	Parbhani	210	15	225	112	7	119	14	0	14	0	0	0
13	Hingoli	147	12	159	69	4	73	3	2	5	0	0	0
*	**Nanded Range**	**693**	**28**	**721**	**356**	**12**	**368**	**17**	**2**	**19**	**0**	**0**	**0**
14	Kolhapur	258	11	269	77	2	79	8	0	8	4	0	4
15	Pune Rural	532	22	554	70	0	70	16	1	17	6	0	6
16	Sangli	212	15	227	45	5	50	0	0	0	2	0	2
17	Satara	356	22	378	141	2	143	22	5	27	2	4	6
18	Solapur Rural	302	13	315	119	5	124	29	3	32	3	0	3
*	**Kolhapur Range**	**1660**	**83**	**1743**	**452**	**14**	**466**	**75**	**9**	**84**	**17**	**4**	**21**
19	Bhandara	105	5	110	58	2	60	4	0	4	2	0	2
20	Chandrapur	263	1	264	0	0	0	0	0	0	0	0	0
21	Nagpur Rural	167	0	167	84	0	84	8	0	8	1	0	1
22	Wardha	260	0	260	101	0	101	15	0	15	0	0	0
*	**Nagpur Range**	**795**	**6**	**801**	**243**	**2**	**245**	**27**	**0**	**27**	**3**	**0**	**3**
23	Gadchiroli	34	0	34	11	0	11	1	0	1	0	0	0
24	Gondia	125	1	126	75	1	76	0	0	0	0	0	0
*	**Gadchiroli Range**	**159**	**1**	**160**	**86**	**1**	**87**	**1**	**0**	**1**	**0**	**0**	**0**
25	Ahmednagar	435	16	451	121	3	124	11	0	11	13	0	13
26	Dhule	63	8	71	0	0	0	0	0	0	0	0	0
27	Jalgaon	428	5	433	281	0	281	0	0	0	0	0	0
28	Nasik Rural	315	30	345	271	26	297	2	0	2	1	0	1
29	Nandurbar	50	3	53	28	0	28	3	0	3	0	0	0
*	**Nasik Range**	**1291**	**62**	**1353**	**701**	**29**	**730**	**16**	**0**	**16**	**14**	**0**	**14**
30	Raigad	117	6	123	43	1	44	6	0	6	2	0	2
31	Ratnagiri	68	4	72	20	2	22	1	0	1	2	0	2
32	Sindhudurg	41	3	44	12	3	15	0	0	0	0	0	0
33	Thane Rural	187	8	195	29	1	30	6	0	6	3	0	3
34	Palghar	213	25	238	53	9	62	21	0	21	2	0	2
*	**Thane Range**	**626**	**46**	**672**	**157**	**16**	**173**	**34**	**0**	**34**	**9**	**0**	**9**
35	Mumbai Railway	91	1	92	26	0	26	2	0	2	0	0	0
36	Pune Railway	21	0	21	2	0	2	0	0	0	0	0	0
37	Nagpur Railway	21	0	21	0	0	0	0	0	0	0	0	0
*	Railways Range	**133**	**1**	**134**	**28**	**0**	**28**	**2**	**0**	**2**	**0**	**0**	**0**
38	Nagpur Commr.	428	9	437	137	3	140	14	1	15	9	0	9
39	Pune Commr.	767	23	790	408	11	419	20	0	20	6	1	7
40	Thane Commr.	704	48	752	338	18	356	8	0	8	17	0	17
41	Mumbai Commr.	2148	71	2219	755	21	776	97	6	103	23	1	24
42	Nasik Commr.	127	7	134	54	6	60	13	0	13	0	0	0
43	Aurangabad Commr.	355	5	360	95	1	96	23	0	23	13	0	13
44	Solapur Commr.	77	0	77	23	0	23	1	0	1	1	0	1
45	Navi Mumbai	230	15	245	57	0	57	12	4	16	2	0	2
46	Amravati Commr.	218	6	224	66	0	66	2	0	2	3	0	3
*	**Total of Commrs.**	**5054**	**184**	**5238**	**1933**	**60**	**1993**	**190**	**11**	**201**	**74**	**2**	**76**
**	**Total**	**13175**	**500**	**13675**	**5486**	**181**	**5667**	**528**	**32**	**560**	**140**	**6**	**146**

तक्ता क्र. ६५ (चालू)

सन २०१५ मध्ये भा.दं.वि. गुन्ह्यांमधील घटक-निहाय अटक झालेले आरोपी (लिंग व गुन्हे शीर्ष-निहाय)

TABLE NO. 65 (contd.)

Unit-Wise Persons Arrested Under I.P.C. Crime During 2015 (Gender And Crimehead-Wise)

Sr. No.	Unit	Assault On Women With Intent To Outrage Her Modesty (Section 354 IPC)						Insult To The Modesty Of Women (Section 509 IPC)		
		Stalking (Section 354D IPC)			Others			Insult To The Modesty Of Women (Total)		
		Male	Female	Total	Male	Female	Total	Male	Female	Total
1	2	192	193	194	195	196	197	198	199	200
1	Akola	16	0	16	76	0	76	6	0	6
2	Amravati Rural	78	0	78	154	0	154	10	0	10
3	Buldhana	25	0	25	42	6	48	39	3	42
4	Yavatmal	36	0	36	174	8	182	220	4	224
5	Washim	0	0	0	0	0	0	4	0	4
*	**Amaravati Range**	**155**	**0**	**155**	**446**	**14**	**460**	**279**	**7**	**286**
6	Aurangabad Rural	35	0	35	134	8	142	4	0	4
7	Jalna	0	0	0	79	0	79	13	0	13
8	Beed	25	0	25	120	5	125	3	0	3
9	Osmanabad	19	0	19	32	5	37	2	0	2
*	**A'bad Range**	**79**	**0**	**79**	**365**	**18**	**383**	**22**	**0**	**22**
10	Nanded	0	0	0	0	0	0	3	0	3
11	Latur	0	0	0	161	0	161	1	0	1
12	Parbhani	19	0	19	65	8	73	1	0	1
13	Hingoli	7	0	7	68	6	74	3	0	3
*	**Nanded Range**	**26**	**0**	**26**	**294**	**14**	**308**	**8**	**0**	**8**
14	Kolhapur	15	0	15	154	9	163	6	0	6
15	Pune Rural	49	0	49	391	21	412	63	1	64
16	Sangli	25	0	25	140	10	150	5	0	5
17	Satara	58	0	58	133	11	144	15	2	17
18	Solapur Rural	50	1	51	101	4	105	2	0	2
*	**Kolhapur Range**	**197**	**1**	**198**	**919**	**55**	**974**	**91**	**3**	**94**
19	Bhandara	22	2	24	19	1	20	11	0	11
20	Chandrapur	0	0	0	263	1	264	14	0	14
21	Nagpur Rural	11	0	11	63	0	63	16	0	16
22	Wardha	31	0	31	113	0	113	4	0	4
*	**Nagpur Range**	**64**	**2**	**66**	**458**	**2**	**460**	**45**	**0**	**45**
23	Gadchiroli	1	0	1	21	0	21	1	0	1
24	Gondia	0	0	0	50	0	50	4	0	4
*	**Gadchiroli Range**	**1**	**0**	**1**	**71**	**0**	**71**	**5**	**0**	**5**
25	Ahmednagar	14	0	14	276	13	289	7	0	7
26	Dhule	0	0	0	63	8	71	6	0	6
27	Jalgaon	0	0	0	147	5	152	27	0	27
28	Nasik Rural	7	0	7	34	4	38	2	0	2
29	Nandurbar	7	0	7	12	3	15	6	0	6
*	**Nasik Range**	**28**	**0**	**28**	**532**	**33**	**565**	**48**	**0**	**48**
30	Raigad	31	1	32	35	4	39	19	1	20
31	Ratnagiri	18	0	18	27	2	29	20	1	21
32	Sindhudurg	11	0	11	18	0	18	2	0	2
33	Thane Rural	16	0	16	133	7	140	74	0	74
34	Palghar	39	3	42	98	13	111	17	0	17
*	**Thane Range**	**115**	**4**	**119**	**311**	**26**	**337**	**132**	**2**	**134**
35	Mumbai Railway	11	0	11	52	1	53	8	0	8
36	Pune Railway	0	0	0	19	0	19	0	0	0
37	Nagpur Railway	0	0	0	21	0	21	1	0	1
*	Railways Range	**11**	**0**	**11**	**92**	**1**	**93**	**9**	**0**	**9**
38	Nagpur Commr.	42	2	44	226	3	229	26	0	26
39	Pune Commr.	116	0	116	217	11	228	56	5	61
40	Thane Commr.	75	1	76	266	29	295	46	6	52
41	Mumbai Commr.	291	2	293	982	41	1023	333	13	346
42	Nasik Commr.	10	0	10	50	1	51	7	1	8
43	Aurangabad Commr.	87	1	88	137	3	140	6	0	6
44	Solapur Commr.	9	0	9	43	0	43	4	0	4
45	Navi Mumbai	38	1	39	121	10	131	29	0	29
46	Amravati Commr.	38	0	38	109	6	115	7	0	7
*	**Total of Commrs.**	**706**	**7**	**713**	**2151**	**104**	**2255**	**514**	**25**	**539**
**	**Total**	**1382**	**14**	**1396**	**5639**	**267**	**5906**	**1153**	**37**	**1190**

तक्ता क्र. ६५ (चालू)

सन २०१५ मध्ये भा.दं.वि. गुन्ह्यांमधील घटक-निहाय अटक झालेले आरोपी (लिंग व गुन्हे शीर्ष-निहाय)

TABLE NO. 65 (contd.)

Unit-Wise Persons Arrested Under I.P.C. Crime During 2015 (Gender And Crimehead-Wise)

Sr. No.	Unit	Insult To The Modesty Of Women (Section 509 IPC)											
		At Office premises			Other Places Related To Work			In Public Transport System			Places Other Than (Previous Columns)		
		Male	Female	Total	Male	Female	Total	Male	Female	Total	Male	Female	Total
1	2	201	202	203	204	205	206	207	208	209	210	211	212
1	Akola	0	0	0	0	0	0	0	0	0	6	0	6
2	Amravati Rural	0	0	0	0	0	0	0	0	0	10	0	10
3	Buldhana	5	0	5	9	0	9	22	1	23	3	2	5
4	Yavatmal	0	0	0	0	0	0	0	0	0	90	2	92
5	Washim	0	0	0	130	2	132	0	0	0	4	0	4
*	**Amaravati Range**	**5**	**0**	**5**	**139**	**2**	**141**	**22**	**1**	**23**	**113**	**4**	**117**
6	Aurangabad Rural	0	0	0	0	0	0	0	0	0	4	0	4
7	Jalna	4	0	4	6	0	6	0	0	0	3	0	3
8	Beed	0	0	0	0	0	0	0	0	0	3	0	3
9	Osmanabad	0	0	0	0	0	0	0	0	0	2	0	2
*	**A'bad Range**	**4**	**0**	**4**	**6**	**0**	**6**	**0**	**0**	**0**	**12**	**0**	**12**
10	Nanded	0	0	0	0	0	0	0	0	0	3	0	3
11	Latur	0	0	0	0	0	0	0	0	0	1	0	1
12	Parbhani	0	0	0	0	0	0	0	0	0	1	0	1
13	Hingoli	0	0	0	0	0	0	0	0	0	3	0	3
*	**Nanded Range**	**0**	**0**	**0**	**0**	**0**	**0**	**0**	**0**	**0**	**8**	**0**	**8**
14	Kolhapur	0	0	0	0	0	0	0	0	0	6	0	6
15	Pune Rural	0	0	0	0	0	0	0	0	0	63	1	64
16	Sangli	0	0	0	0	0	0	0	0	0	5	0	5
17	Satara	0	0	0	0	0	0	0	0	0	15	2	17
18	Solapur Rural	0	0	0	0	0	0	0	0	0	2	0	2
*	**Kolhapur Range**	**0**	**0**	**0**	**0**	**0**	**0**	**0**	**0**	**0**	**91**	**3**	**94**
19	Bhandara	2	0	2	0	0	0	0	0	0	9	0	9
20	Chandrapur	0	0	0	0	0	0	0	0	0	14	0	14
21	Nagpur Rural	0	0	0	0	0	0	0	0	0	16	0	16
22	Wardha	0	0	0	0	0	0	0	0	0	4	0	4
*	**Nagpur Range**	**2**	**0**	**2**	**0**	**0**	**0**	**0**	**0**	**0**	**43**	**0**	**43**
23	Gadchiroli	0	0	0	0	0	0	0	0	0	1	0	1
24	Gondia	0	0	0	0	0	0	0	0	0	4	0	4
*	**Gadchiroli Range**	**0**	**0**	**0**	**0**	**0**	**0**	**0**	**0**	**0**	**5**	**0**	**5**
25	Ahmednagar	0	0	0	0	0	0	0	0	0	7	0	7
26	Dhule	0	0	0	0	0	0	0	0	0	6	0	6
27	Jalgaon	0	0	0	0	0	0	0	0	0	27	0	27
28	Nasik Rural	0	0	0	1	0	1	0	0	0	1	0	1
29	Nandurbar	0	0	0	0	0	0	0	0	0	6	0	6
*	**Nasik Range**	**0**	**0**	**0**	**1**	**0**	**1**	**0**	**0**	**0**	**47**	**0**	**47**
30	Raigad	0	0	0	0	0	0	0	0	0	19	1	20
31	Ratnagiri	0	0	0	0	0	0	0	0	0	20	1	21
32	Sindhudurg	0	0	0	0	0	0	0	0	0	2	0	2
33	Thane Rural	0	0	0	0	0	0	0	0	0	74	0	74
34	Palghar	0	0	0	1	0	1	0	0	0	16	0	16
*	**Thane Range**	**0**	**0**	**0**	**1**	**0**	**1**	**0**	**0**	**0**	**131**	**2**	**133**
35	Mumbai Railway	0	0	0	0	0	0	8	0	8	0	0	0
36	Pune Railway	0	0	0	0	0	0	0	0	0	0	0	0
37	Nagpur Railway	0	0	0	1	0	1	0	0	0	0	0	0
*	Railways Range	**0**	**0**	**0**	**1**	**0**	**1**	**8**	**0**	**8**	**0**	**0**	**0**
38	Nagpur Commr.	0	0	0	0	0	0	0	0	0	26	0	26
39	Pune Commr.	0	0	0	14	4	18	0	0	0	42	1	43
40	Thane Commr.	4	0	4	10	2	12	0	0	0	32	4	36
41	Mumbai Commr.	11	0	11	27	1	28	6	0	6	289	12	301
42	Nasik Commr.	0	0	0	0	0	0	1	0	1	6	1	7
43	Aurangabad Commr.	0	0	0	0	0	0	0	0	0	6	0	6
44	Solapur Commr.	0	0	0	0	0	0	0	0	0	4	0	4
45	Navi Mumbai	0	0	0	0	0	0	0	0	0	29	0	29
46	Amravati Commr.	0	0	0	0	0	0	0	0	0	7	0	7
*	**Total of Commrs.**	**15**	**0**	**15**	**51**	**7**	**58**	**7**	**0**	**7**	**441**	**18**	**459**
**	**Total**	**26**	**0**	**26**	**199**	**9**	**208**	**37**	**1**	**38**	**891**	**27**	**918**

तक्ता क्र. ६५ (चालू)

सन २०१४ मध्ये भा.दं.वि. गुन्ह्यांमधील घटक-निहाय अटक झालेले आरोपी (लिंग व गुन्हे शीर्ष-निहाय)

TABLE NO. 65 (Contd.)

Unit-Wise Persons Arrested Under I.P.C. Crime During 2015 (Gender And Crimehead-Wise)

Sr. No.	Unit	Cruelty by Husband and Relatives (Sec. 498A IPC)			Importation of Girls From Foreign Country upto 21 years (Sec. 366B IPC)			Causing Death By Negligence (Section 304-A IPC)		
								Causing Death By Negligence (Total)		
		Male	Female	Total	Male	Female	Total	Male	Female	Total
1	2	3	4	5	6	7	8	9	10	11
1	Akola	152	89	241	0	0	0	133	0	133
2	Amravati Rural	279	47	326	0	0	0	146	0	146
3	Buldhana	458	261	719	0	0	0	199	0	199
4	Yavatmal	412	120	532	0	0	0	196	2	198
5	Washim	169	262	431	0	0	0	37	0	37
*	**Amaravati Range**	**1470**	**779**	**2249**	**0**	**0**	**0**	**711**	**2**	**713**
6	Aurangabad Rural	510	158	668	0	0	0	181	0	181
7	Jalna	436	53	489	0	0	0	186	4	190
8	Beed	916	544	1460	0	0	0	286	0	286
9	Osmanabad	288	194	482	0	0	0	328	0	328
*	**A'bad Range**	**2150**	**949**	**3099**	**0**	**0**	**0**	**981**	**4**	**985**
10	Nanded	471	338	809	0	0	0	188	0	188
11	Latur	821	287	1108	0	0	0	204	0	204
12	Parbhani	619	364	983	0	0	0	95	0	95
13	Hingoli	237	164	401	0	0	0	100	0	100
*	**Nanded Range**	**2148**	**1153**	**3301**	**0**	**0**	**0**	**587**	**0**	**587**
14	Kolhapur	165	107	272	0	0	0	181	2	183
15	Pune Rural	253	177	430	0	0	0	456	1	457
16	Sangli	170	88	258	0	0	0	316	0	316
17	Satara	305	136	441	0	0	0	288	0	288
18	Solapur Rural	238	140	378	0	0	0	530	0	530
*	**Kolhapur Range**	**1131**	**648**	**1779**	**0**	**0**	**0**	**1771**	**3**	**1774**
19	Bhandara	49	7	56	0	0	0	101	0	101
20	Chandrapur	226	127	353	0	0	0	152	0	152
21	Nagpur Rural	73	17	90	0	0	0	272	0	272
22	Wardha	66	8	74	0	0	0	79	0	79
*	**Nagpur Range**	**414**	**159**	**573**	**0**	**0**	**0**	**604**	**0**	**604**
23	Gadchiroli	22	10	32	0	0	0	66	0	66
24	Gondia	73	23	96	0	0	0	91	1	92
*	**Gadchiroli Range**	**95**	**33**	**128**	**0**	**0**	**0**	**157**	**1**	**158**
25	Ahmednagar	494	313	807	0	0	0	525	0	525
26	Dhule	327	168	495	0	0	0	232	0	232
27	Jalgaon	312	103	415	0	0	0	395	0	395
28	Nasik Rural	921	563	1484	0	0	0	443	1	444
29	Nandurbar	121	25	146	0	0	0	107	0	107
*	**Nasik Range**	**2175**	**1172**	**3347**	**0**	**0**	**0**	**1702**	**1**	**1703**
30	Raigad	89	38	127	0	0	0	179	0	179
31	Ratnagiri	17	15	32	0	0	0	86	0	86
32	Sindhudurg	22	9	31	0	0	0	50	1	51
33	Thane Rural	127	59	186	0	0	0	134	4	138
34	Palghar	68	45	113	0	0	0	207	2	209
*	**Thane Range**	**323**	**166**	**489**	**0**	**0**	**0**	**656**	**7**	**663**
35	Mumbai Railway	0	0	0	0	0	0	1	0	1
36	Pune Railway	0	0	0	0	0	0	0	0	0
37	Nagpur Railway	0	0	0	0	0	0	1	0	1
*	**Railways Range**	**0**	**0**	**0**	**0**	**0**	**0**	**2**	**0**	**2**
38	Nagpur Commr.	425	236	661	0	0	0	199	2	201
39	Pune Commr.	544	320	864	0	0	0	363	4	367
40	Thane Commr.	519	354	873	0	0	0	244	2	246
41	Mumbai Commr.	676	419	1095	0	0	0	573	9	582
42	Nasik Commr.	283	186	469	0	0	0	128	1	129
43	Aurangabad Commr.	421	231	652	0	0	0	110	0	110
44	Solapur Commr.	69	32	101	0	0	0	62	0	62
45	Navi Mumbai	162	97	259	0	0	0	257	8	265
46	Amravati Commr.	162	28	190	0	0	0	48	2	50
*	**Total of Commrs.**	**3261**	**1903**	**5164**	**0**	**0**	**0**	**1984**	**28**	**2012**
**	**Total**	**13167**	**6962**	**20129**	**0**	**0**	**0**	**9155**	**46**	**9201**

तक्ता क्र. ६५ (चालू)

सन २०१४५मध्ये भा.दं.वि. गुन्ह्यांमधील घटक-निहाय अटक झालेले आरोपी (लिंग व गुन्हे शीर्ष-निहाय)

TABLE NO. 65 (Contd.)

Unit-Wise Persons Arrested Under I.P.C. Crime During 2015 (Gender And Crimehead-Wise)

Sr. No.	Unit	Causing Death By Negligence (Section 304-A IPC)						Offences against State (Section 153A, 121, 122, 123, 124-A IPC)		
		Deaths Due To Rash/Negligent Driving			Deaths Due To Other Causes			Offences Against State (Section 121, 121A, 122, 123, 124-A IPC)		
		Male	Female	Total	Male	Female	Total	Male	Female	Total
1	2	12	13	14	15	16	17	18	19	20
1	Akola	133	0	133	0	0	0	0	0	0
2	Amravati Rural	141	0	141	5	0	5	0	0	0
3	Buldhana	185	0	185	14	0	14	0	0	0
4	Yavatmal	188	2	190	8	0	8	0	0	0
5	Washim	37	0	37	0	0	0	0	0	0
*	**Amaravati Range**	**684**	**2**	**686**	**27**	**0**	**27**	**0**	**0**	**0**
6	Aurangabad Rural	179	0	179	2	0	2	0	0	0
7	Jalna	280	0	280	6	0	6	0	0	0
8	Beed	176	0	176	10	4	14	0	0	0
9	Osmanabad	322	0	322	6	0	6	0	0	0
*	**A'bad Range**	**957**	**0**	**957**	**24**	**4**	**28**	**0**	**0**	**0**
10	Nanded	186	0	186	2	0	2	0	0	0
11	Latur	204	0	204	0	0	0	0	0	0
12	Parbhani	88	0	88	7	0	7	0	0	0
13	Hingoli	100	0	100	0	0	0	0	0	0
*	**Nanded Range**	**578**	**0**	**578**	**9**	**0**	**9**	**0**	**0**	**0**
14	Kolhapur	158	2	160	23	0	23	0	0	0
15	Pune Rural	453	1	454	3	0	3	0	0	0
16	Sangli	307	0	307	9	0	9	0	0	0
17	Satara	269	0	269	19	0	19	0	0	0
18	Solapur Rural	523	0	523	7	0	7	0	0	0
*	**Kolhapur Range**	**1710**	**3**	**1713**	**61**	**0**	**61**	**0**	**0**	**0**
19	Bhandara	96	0	96	5	0	5	0	0	0
20	Chandrapur	146	0	146	6	0	6	0	0	0
21	Nagpur Rural	258	0	258	14	0	14	0	0	0
22	Wardha	79	0	79	0	0	0	0	0	0
*	**Nagpur Range**	**579**	**0**	**579**	**25**	**0**	**25**	**0**	**0**	**0**
23	Gadchiroli	64	0	64	2	0	2	0	0	0
24	Gondia	83	1	84	8	0	8	0	0	0
*	**Gadchiroli Range**	**147**	**1**	**148**	**10**	**0**	**10**	**0**	**0**	**0**
25	Ahmednagar	525	0	525	0	0	0	0	0	0
26	Dhule	230	0	230	2	0	2	0	0	0
27	Jalgaon	376	0	376	19	0	19	0	0	0
28	Nasik Rural	443	1	444	0	0	0	0	0	0
29	Nandurbar	104	0	104	3	0	3	0	0	0
*	**Nasik Range**	**1678**	**1**	**1679**	**24**	**0**	**24**	**0**	**0**	**0**
30	Raigad	177	0	177	2	0	2	0	0	0
31	Ratnagiri	86	0	86	0	0	0	0	0	0
32	Sindhudurg	27	1	28	23	0	23	0	0	0
33	Thane Rural	122	4	126	12	0	12	0	0	0
34	Palghar	163	1	164	44	1	45	0	0	0
*	**Thane Range**	**575**	**6**	**581**	**81**	**1**	**82**	**0**	**0**	**0**
35	Mumbai Railway	0	0	0	1	0	1	0	0	0
36	Pune Railway	0	0	0	0	0	0	0	0	0
37	Nagpur Railway	0	0	0	1	0	1	0	0	0
*	**Railways Range**	**0**	**0**	**0**	**2**	**0**	**2**	**0**	**0**	**0**
38	Nagpur Commr.	199	2	201	0	0	0	0	0	0
39	Pune Commr.	323	3	326	40	1	41	0	0	0
40	Thane Commr.	174	1	175	70	1	71	0	0	0
41	Mumbai Commr.	440	7	447	133	2	135	0	0	0
42	Nasik Commr.	121	1	122	7	0	7	0	0	0
43	Aurangabad Commr.	109	0	109	1	0	1	0	0	0
44	Solapur Commr.	58	0	58	4	0	4	0	0	0
45	Navi Mumbai	195	2	197	62	6	68	0	0	0
46	Amravati Commr.	45	2	47	3	0	3	0	0	0
*	**Total of Commrs.**	**1664**	**18**	**1682**	**320**	**10**	**330**	**0**	**0**	**0**
**	**Total**	**8572**	**31**	**8603**	**583**	**15**	**598**	**0**	**0**	**0**

तक्ता क्र. ६५ (चालू)

सन २०१५ मध्ये भा.दं.वि. गुन्ह्यांमधील घटक-निहाय अटक झालेले आरोपी (लिंग व गुन्हे शीर्ष-निहाय)

TABLE NO. 65 (Contd.)

Unit-Wise Persons Arrested Under I.P.C. Crime During 2015 (Gender And Crimehead-Wise)

Sr. No.	Unit	Offences against State (Section 153A, 121, 122, 123, 124-A IPC)			Offences against State (Section 153A, 121, 122, 123, 124-A IPC)			Offences Promoting Enmity Between Different Groups (Section 153A & 153B IPC)		
		Sedition (Section 124A IPC)			Others (Section 121, 121A, 122 & 123 IPC)			Offences Promoting Enmity Between Different Groups (TOTAL)		
		Male	Female	Total	Male	Female	Total	Male	Female	Total
1	2	21	22	23	24	25	26	27	28	29
1	Akola	0	0	0	0	0	0	0	0	0
2	Amravati Rural	0	0	0	0	0	0	0	0	0
3	Buldhana	0	0	0	0	0	0	3	0	3
4	Yavatmal	0	0	0	0	0	0	0	0	0
5	Washim	0	0	0	0	0	0	0	0	0
*	**Amaravati Range**	**0**	**0**	**0**	**0**	**0**	**0**	**3**	**0**	**3**
6	Aurangabad Rural	0	0	0	0	0	0	0	0	0
7	Jalna	0	0	0	0	0	0	0	0	0
8	Beed	0	0	0	0	0	0	0	0	0
9	Osmanabad	0	0	0	0	0	0	0	0	0
*	**A'bad Range**	**0**	**0**	**0**	**0**	**0**	**0**	**0**	**0**	**0**
10	Nanded	0	0	0	0	0	0	4	0	4
11	Latur	0	0	0	0	0	0	0	0	0
12	Parbhani	0	0	0	0	0	0	0	0	0
13	Hingoli	0	0	0	0	0	0	0	0	0
*	**Nanded Range**	**0**	**0**	**0**	**0**	**0**	**0**	**4**	**0**	**4**
14	Kolhapur	0	0	0	0	0	0	0	0	0
15	Pune Rural	0	0	0	0	0	0	0	0	0
16	Sangli	0	0	0	0	0	0	1	0	1
17	Satara	0	0	0	0	0	0	0	0	0
18	Solapur Rural	0	0	0	0	0	0	0	0	0
*	**Kolhapur Range**	**0**	**0**	**0**	**0**	**0**	**0**	**1**	**0**	**1**
19	Bhandara	0	0	0	0	0	0	3	0	3
20	Chandrapur	0	0	0	0	0	0	0	0	0
21	Nagpur Rural	0	0	0	0	0	0	0	0	0
22	Wardha	0	0	0	0	0	0	0	0	0
*	**Nagpur Range**	**0**	**0**	**0**	**0**	**0**	**0**	**3**	**0**	**3**
23	Gadchiroli	0	0	0	0	0	0	0	0	0
24	Gondia	0	0	0	0	0	0	0	0	0
*	**Gadchiroli Range**	**0**	**0**	**0**	**0**	**0**	**0**	**0**	**0**	**0**
25	Ahmednagar	0	0	0	0	0	0	1	0	1
26	Dhule	0	0	0	0	0	0	0	0	0
27	Jalgaon	0	0	0	0	0	0	2	0	2
28	Nasik Rural	0	0	0	0	0	0	1	0	1
29	Nandurbar	0	0	0	0	0	0	1	0	1
*	**Nasik Range**	**0**	**0**	**0**	**0**	**0**	**0**	**5**	**0**	**5**
30	Raigad	0	0	0	0	0	0	189	20	209
31	Ratnagiri	0	0	0	0	0	0	0	0	0
32	Sindhudurg	0	0	0	0	0	0	0	0	0
33	Thane Rural	0	0	0	0	0	0	0	0	0
34	Palghar	0	0	0	0	0	0	0	0	0
*	**Thane Range**	**0**	**0**	**0**	**0**	**0**	**0**	**189**	**20**	**209**
35	Mumbai Railway	0	0	0	0	0	0	0	0	0
36	Pune Railway	0	0	0	0	0	0	0	0	0
37	Nagpur Railway	0	0	0	0	0	0	0	0	0
*	**Railways Range**	**0**	**0**	**0**	**0**	**0**	**0**	**0**	**0**	**0**
38	Nagpur Commr.	0	0	0	0	0	0	0	0	0
39	Pune Commr.	0	0	0	0	0	0	5	0	5
40	Thane Commr.	0	0	0	0	0	0	1	0	1
41	Mumbai Commr.	0	0	0	0	0	0	0	0	0
42	Nasik Commr.	0	0	0	0	0	0	0	0	0
43	Aurangabad Commr.	0	0	0	0	0	0	0	0	0
44	Solapur Commr.	0	0	0	0	0	0	0	0	0
45	Navi Mumbai	0	0	0	0	0	0	1	0	1
46	Amravati Commr.	0	0	0	0	0	0	0	0	0
*	**Total of Commrs.**	**0**	**0**	**0**	**0**	**0**	**0**	**7**	**0**	**7**
**	**Total**	**0**	**0**	**0**	**0**	**0**	**0**	**212**	**20**	**232**

तक्ता क्र. ६५ (चालू)

सन २०१५ मध्ये भा.दं.वि. गुन्ह्यांमधील घटक-निहाय अटक झालेले आरोपी (लिंग व गुन्हे शीर्ष-निहाय)

TABLE NO. 65 (Contd.)

Unit-Wise Persons Arrested Under I.P.C. Crime During 2015 (Gender And Crimehead-Wise)

Sr. No.	Unit	Offences Promoting Enmity Between Different Groups (Section 153A & 153B IPC)						Extortion (Section 384 IPC)		
		Promoting Enmity Between Different Groups On Ground Of Religion, Race, Place Of Birth, Etc (Section 153A IPC)			Imputation, Assertions Prejudicial To National Integration (Section 153B IPC)					
		Male	Female	Total	Male	Female	Total	Male	Female	Total
1	2	30	31	32	33	34	35	36	37	38
1	Akola	0	0	0	0	0	0	12	0	12
2	Amravati Rural	0	0	0	0	0	0	5	0	5
3	Buldhana	0	0	0	3	0	3	6	0	6
4	Yavatmal	0	0	0	0	0	0	11	0	11
5	Washim	0	0	0	0	0	0	6	0	6
*	**Amaravati Range**	**0**	**0**	**0**	**3**	**0**	**3**	**40**	**0**	**40**
6	Aurangabad Rural	0	0	0	0	0	0	3	0	3
7	Jalna	0	0	0	0	0	0	7	0	7
8	Beed	0	0	0	0	0	0	30	3	33
9	Osmanabad	0	0	0	0	0	0	7	0	7
*	**A'bad Range**	**0**	**0**	**0**	**0**	**0**	**0**	**47**	**3**	**50**
10	Nanded	4	0	4	0	0	0	17	0	17
11	Latur	0	0	0	0	0	0	19	0	19
12	Parbhani	0	0	0	0	0	0	11	0	11
13	Hingoli	0	0	0	0	0	0	5	0	5
*	**Nanded Range**	**4**	**0**	**4**	**0**	**0**	**0**	**52**	**0**	**52**
14	Kolhapur	0	0	0	0	0	0	9	0	9
15	Pune Rural	0	0	0	0	0	0	17	7	24
16	Sangli	1	0	1	0	0	0	46	1	47
17	Satara	0	0	0	0	0	0	21	3	24
18	Solapur Rural	0	0	0	0	0	0	15	0	15
*	**Kolhapur Range**	**1**	**0**	**1**	**0**	**0**	**0**	**108**	**11**	**119**
19	Bhandara	3	0	3	0	0	0	0	0	0
20	Chandrapur	0	0	0	0	0	0	7	0	7
21	Nagpur Rural	0	0	0	0	0	0	4	0	4
22	Wardha	0	0	0	0	0	0	7	0	7
*	**Nagpur Range**	**3**	**0**	**3**	**0**	**0**	**0**	**18**	**0**	**18**
23	Gadchiroli	0	0	0	0	0	0	4	0	4
24	Gondia	0	0	0	0	0	0	4	0	4
*	**Gadchiroli Range**	**0**	**0**	**0**	**0**	**0**	**0**	**8**	**0**	**8**
25	Ahmednagar	1	0	1	0	0	0	23	0	23
26	Dhule	0	0	0	0	0	0	15	1	16
27	Jalgaon	2	0	2	0	0	0	32	0	32
28	Nasik Rural	1	0	1	0	0	0	20	1	21
29	Nandurbar	1	0	1	0	0	0	8	1	9
*	**Nasik Range**	**5**	**0**	**5**	**0**	**0**	**0**	**98**	**3**	**101**
30	Raigad	189	20	209	0	0	0	3	1	4
31	Ratnagiri	0	0	0	0	0	0	28	0	28
32	Sindhudurg	0	0	0	0	0	0	0	0	0
33	Thane Rural	0	0	0	0	0	0	14	0	14
34	Palghar	0	0	0	0	0	0	25	0	25
*	**Thane Range**	**189**	**20**	**209**	**0**	**0**	**0**	**70**	**1**	**71**
35	Mumbai Railway	0	0	0	0	0	0	2	0	2
36	Pune Railway	0	0	0	0	0	0	0	0	0
37	Nagpur Railway	0	0	0	0	0	0	0	0	0
*	**Railways Range**	**0**	**0**	**0**	**0**	**0**	**0**	**2**	**0**	**2**
38	Nagpur Commr.	0	0	0	0	0	0	147	3	150
39	Pune Commr.	5	0	5	0	0	0	110	1	111
40	Thane Commr.	1	0	1	0	0	0	174	10	184
41	Mumbai Commr.	0	0	0	0	0	0	377	23	400
42	Nasik Commr.	0	0	0	0	0	0	31	0	31
43	Aurangabad Commr.	0	0	0	0	0	0	42	3	45
44	Solapur Commr.	0	0	0	0	0	0	17	0	17
45	Navi Mumbai	1	0	1	0	0	0	61	4	65
46	Amravati Commr.	0	0	0	0	0	0	8	0	8
*	**Total of Commrs.**	**7**	**0**	**7**	**0**	**0**	**0**	**967**	**44**	**1011**
**	**Total**	**209**	**20**	**229**	**3**	**0**	**3**	**1410**	**62**	**1472**

तक्ता क्र. ६५ (चालू)

सन २०१५ मध्ये भा.दं.वि. गुन्ह्यांमधील घटक-निहाय अटक झालेले आरोपी (लिंग व गुन्हे शीर्ष-निहाय)

TABLE NO. 65 (Contd.)

Unit-Wise Persons Arrested Under I.P.C. Crime During 2015 (Gender And Crimehead-Wise)

Sr. No.	Unit	Disclosure Of Identity Of Victims (Section 228 A IPC)			Incidence Of Rash Driving/Road Rage (Under Section 279 IPC) (Read With Other Sections Of IPC Also)			Human Trafficking (u/s 370 & 370A IPC)		
		Male	Female	Total	Male	Female	Total	Male	Female	Total
1	2	39	40	41	42	43	44	45	46	47
1	Akola	0	0	0	615	0	615	0	0	0
2	Amravati Rural	0	0	0	839	0	839	0	0	0
3	Buldhana	0	0	0	426	2	428	0	0	0
4	Yavatmal	0	0	0	692	0	692	0	0	0
5	Washim	0	0	0	144	0	144	0	0	0
*	**Amaravati Range**	**0**	**0**	**0**	**2716**	**2**	**2718**	**0**	**0**	**0**
6	Aurangabad Rural	0	0	0	1097	0	1097	0	0	0
7	Jalna	0	0	0	37	0	37	0	0	0
8	Beed	0	0	0	816	1	817	0	0	0
9	Osmanabad	0	0	0	511	0	511	0	0	0
*	**A'bad Range**	**0**	**0**	**0**	**2461**	**1**	**2462**	**0**	**0**	**0**
10	Nanded	0	0	0	1640	3	1643	5	5	10
11	Latur	0	0	0	267	0	267	0	0	0
12	Parbhani	0	0	0	176	0	176	0	0	0
13	Hingoli	0	0	0	313	0	313	0	0	0
*	**Nanded Range**	**0**	**0**	**0**	**2396**	**3**	**2399**	**5**	**5**	**10**
14	Kolhapur	0	0	0	507	0	507	0	0	0
15	Pune Rural	0	0	0	1947	2	1949	0	0	0
16	Sangli	0	0	0	403	0	403	0	0	0
17	Satara	0	0	0	500	1	501	1	0	1
18	Solapur Rural	0	0	0	563	1	564	0	0	0
*	**Kolhapur Range**	**0**	**0**	**0**	**3920**	**4**	**3924**	**1**	**0**	**1**
19	Bhandara	0	0	0	254	0	254	0	0	0
20	Chandrapur	0	0	0	385	1	386	0	0	0
21	Nagpur Rural	0	0	0	832	0	832	0	0	0
22	Wardha	0	0	0	734	0	734	0	0	0
*	**Nagpur Range**	**0**	**0**	**0**	**2205**	**1**	**2206**	**0**	**0**	**0**
23	Gadchiroli	0	0	0	87	0	87	0	0	0
24	Gondia	0	0	0	166	0	166	0	0	0
*	**Gadchiroli Range**	**0**	**0**	**0**	**253**	**0**	**253**	**0**	**0**	**0**
25	Ahmednagar	0	0	0	1258	0	1258	0	0	0
26	Dhule	0	0	0	317	0	317	0	0	0
27	Jalgaon	0	0	0	494	0	494	0	0	0
28	Nasik Rural	0	0	0	1306	0	1306	0	0	0
29	Nandurbar	0	0	0	200	0	200	0	0	0
*	**Nasik Range**	**0**	**0**	**0**	**3575**	**0**	**3575**	**0**	**0**	**0**
30	Raigad	0	0	0	372	1	373	0	0	0
31	Ratnagiri	0	0	0	635	2	637	0	0	0
32	Sindhudurg	0	0	0	98	1	99	0	0	0
33	Thane Rural	0	0	0	145	0	145	0	0	0
34	Palghar	0	0	0	294	2	296	0	0	0
*	**Thane Range**	**0**	**0**	**0**	**1544**	**6**	**1550**	**0**	**0**	**0**
35	Mumbai Railway	0	0	0	0	0	0	3	1	4
36	Pune Railway	0	0	0	0	0	0	0	0	0
37	Nagpur Railway	0	0	0	0	0	0	0	0	0
*	**Railways Range**	**0**	**0**	**0**	**0**	**0**	**0**	**3**	**1**	**4**
38	Nagpur Commr.	0	0	0	866	14	880	6	2	8
39	Pune Commr.	0	0	0	1044	13	1057	1	0	1
40	Thane Commr.	0	0	0	902	5	907	0	0	0
41	Mumbai Commr.	0	0	0	3268	73	3341	0	0	0
42	Nasik Commr.	0	0	0	398	2	400	0	0	0
43	Aurangabad Commr.	0	0	0	924	0	924	0	0	0
44	Solapur Commr.	0	0	0	245	11	256	0	0	0
45	Navi Mumbai	0	0	0	518	10	528	0	0	0
46	Amravati Commr.	0	0	0	477	27	504	0	0	0
*	**Total of Commrs.**	**0**	**0**	**0**	**8642**	**155**	**8797**	**7**	**2**	**9**
**	**Total**	**0**	**0**	**0**	**27712**	**172**	**27884**	**16**	**8**	**24**

तक्ता क्र. ६५ (चालू)

सन २०१५ मध्ये भा.दं.वि. गुन्ह्यांमधील घटक-निहाय अटक झालेले आरोपी (लिंग व गुन्हे शीर्ष-निहाय)

TABLE NO. 65 (Contd.)

Unit-Wise Persons Arrested Under I.P.C. Crime During 2015 (Gender And Crimehead-Wise)

Sr. No.	Unit	UnNatural Offences(u/s 377 IPC)			Other IPC Crimes			Total Cognizable Crimes Under IPC			Percentage Of Females
		Male	Female	Total	Male	Female	Total	Male	Female	Total	
1	2	48	49	50	51	52	53	54	55	56	57
1	Akola	2	0	2	1788	156	1944	4900	293	5193	5.6
2	Amravati Rural	2	0	2	3241	148	3389	6265	279	6544	4.3
3	Buldhana	10	0	10	3758	587	4345	8530	1304	9834	13.3
4	Yavatmal	5	0	5	4272	321	4593	9451	669	10120	6.6
5	Washim	3	0	3	1071	28	1099	3420	454	3874	11.7
*	**Amaravati Range**	**22**	**0**	**22**	**14130**	**1240**	**15370**	**32566**	**2999**	**35565**	**8.4**
6	Aurangabad Rural	1	0	1	1495	206	1701	6956	746	7702	9.7
7	Jalna	0	0	0	1710	49	1759	6369	245	6614	3.7
8	Beed	6	0	6	2313	313	2626	8482	1217	9699	12.5
9	Osmanabad	1	0	1	1402	190	1592	5416	705	6121	11.5
*	**A'bad Range**	**8**	**0**	**8**	**6920**	**758**	**7678**	**27223**	**2913**	**30136**	**9.7**
10	Nanded	1	0	1	2399	284	2683	8189	870	9059	9.6
11	Latur	0	0	0	2326	31	2357	6246	422	6668	6.3
12	Parbhani	1	0	1	2897	287	3184	7096	858	7954	10.8
13	Hingoli	1	0	1	1347	221	1568	3739	596	4335	13.7
*	**Nanded Range**	**3**	**0**	**3**	**8969**	**823**	**9792**	**25270**	**2746**	**28016**	**9.8**
14	Kolhapur	0	0	0	882	49	931	5838	536	6374	8.4
15	Pune Rural	5	0	5	2050	162	2212	11332	738	12070	6.1
16	Sangli	2	0	2	4095	177	4272	8968	555	9523	5.8
17	Satara	1	0	1	2813	135	2948	9085	680	9765	7.0
18	Solapur Rural	3	0	3	3774	207	3981	10626	613	11239	5.5
*	**Kolhapur Range**	**11**	**0**	**11**	**13614**	**730**	**14344**	**45849**	**3122**	**48971**	**6.4**
19	Bhandara	2	0	2	634	44	678	1993	115	2108	5.5
20	Chandrapur	5	0	5	1728	100	1828	4814	360	5174	7.0
21	Nagpur Rural	1	0	1	1203	21	1224	4524	88	4612	1.9
22	Wardha	1	0	1	1360	17	1377	3948	52	4000	1.3
*	**Nagpur Range**	**9**	**0**	**9**	**4925**	**182**	**5107**	**15279**	**615**	**15894**	**3.9**
23	Gadchiroli	0	0	0	819	20	839	1556	70	1626	4.3
24	Gondia	0	0	0	725	18	743	2128	66	2194	3.0
*	**Gadchiroli Range**	**0**	**0**	**0**	**1544**	**38**	**1582**	**3684**	**136**	**3820**	**3.6**
25	Ahmednagar	0	0	0	2070	183	2253	12083	1177	13260	8.9
26	Dhule	0	0	0	426	15	441	3363	346	3709	9.3
27	Jalgaon	3	0	3	3482	37	3519	9695	490	10185	4.8
28	Nasik Rural	2	0	2	1135	234	1369	9586	1525	11111	13.7
29	Nandurbar	0	0	0	491	23	514	2246	132	2378	5.6
*	**Nasik Range**	**5**	**0**	**5**	**7604**	**492**	**8096**	**36973**	**3670**	**40643**	**9.0**
30	Raigad	3	1	4	595	76	671	3783	367	4150	8.8
31	Ratnagiri	3	0	3	496	52	548	2784	245	3029	8.1
32	Sindhudurg	0	0	0	241	32	273	1206	88	1294	6.8
33	Thane Rural	0	0	0	577	119	696	4079	387	4466	8.7
34	Palghar	2	0	2	901	104	1005	5319	398	5717	7.0
*	**Thane Range**	**8**	**1**	**9**	**2810**	**383**	**3193**	**17171**	**1485**	**18656**	**8.0**
35	Mumbai Railway	0	0	0	156	11	167	2637	198	2835	7.0
36	Pune Railway	0	0	0	21	1	22	459	50	509	9.8
37	Nagpur Railway	0	0	0	53	5	58	791	32	823	3.9
*	**Railways Range**	**0**	**0**	**0**	**230**	**17**	**247**	**3887**	**280**	**4167**	**6.7**
38	Nagpur Commr.	5	0	5	2809	148	2957	9836	643	10479	6.1
39	Pune Commr.	22	2	24	3039	333	3372	15382	1211	16593	7.3
40	Thane Commr.	27	0	27	3825	765	4590	16956	1657	18613	8.9
41	Mumbai Commr.	64	3	67	16718	2779	19497	41006	4397	45403	9.7
42	Nasik Commr.	2	0	2	1483	50	1533	4641	344	4985	6.9
43	Aurangabad Commr.	2	0	2	1099	108	1207	6126	500	6626	7.5
44	Solapur Commr.	1	0	1	386	31	417	2070	114	2184	5.2
45	Navi Mumbai	18	4	22	1648	253	1901	6873	665	7538	8.8
46	Amravati Commr.	1	0	1	1211	222	1433	3827	403	4230	9.5
*	**Total of Commrs.**	**142**	**9**	**151**	**32218**	**4689**	**36907**	**106717**	**9934**	**116651**	**8.5**
**	**Total**	**208**	**10**	**218**	**92964**	**9352**	**102316**	**314619**	**27900**	**342519**	**8.1**

तक्ता क्र. ६६

सन २०१५ मध्ये विशेष व स्थानिक कायद्यांतर्गत अटक आरोपी, टक्केवारीतील तफावत व हिस्सेवारी (गुन्हे शीर्ष-निहाय)

TABLE NO. 66

Persons Arrested Under Sll Crimes During 2015 And Percentage Variation During 2015 As Compared To 2014 (Crime Head-Wise)

Sr. No.	Crime Head	2014	2015	Percentage Variation During 2015 As Compared To 2014	Persantage Share Of Arrestees During 2015
1	2	3	4	5	6
1	Arms Act, 1959	1888	1690	-10.5	0.87
2	Narcotic Drugs & Psychotropic Substances Act, 1985	16290	19906	22.2	10.29
3	Gambling Act, 1867	44340	53525	20.7	27.67
4	Excise Act, 1944	0	2	-	0.00
5	Prohibition Act	66553	69000	3.7	35.67
6	Explosives and Explosive Substances Act	54	59	9.3	0.03
7	Immoral Traffic (Prevention) Act, 1956	641	918	43.2	0.47
7.1	Under Section 5	234	288	23.1	0.15
7.2	Under Section 6	20	43	115.0	0.02
7.3	Under Section 7	83	84	1.2	0.04
7.4	Under Section 8	49	252	414.3	0.13
7.5	Other Sections under ITP Act	255	251	-1.6	0.13
8	Indian Railways Act, 1989	11	6	-45.5	0.00
9	Registration of Foreigners Act, 1939	10	1	-90.0	0.00
10	Protection of Civil Rights Act, 1955	16	11	-31.3	0.01
10.1	PCR Act for crimes committed against SCs	15	11	-26.7	0.01
10.2	PCR Act for crimes committed against STs	1	0	-100.0	0.00
10.3	PCR Act for crimes committed against Others	0	0	0.0	0.00
11	Passport Act, 1967	174	206	18.4	0.11
12	Essential Commodities Act, 1955	1609	1108	-31.1	0.57
13	Antiquities & Art Treasures Act, 1972	1	3	200.0	0.00
14	Dowry Prohibition Act, 1961	71	103	45.1	0.05
15	Indecent Representation of Women (Prohibition) Act, 1986	0	0	0.0	0.00
16	Copyright Act, 1957	454	552	21.6	0.29
17	Protection of Children from Sexual Offence Act 1987	0	39	-	0.02
18	SC/ST (Prevention of Atrocities) Act, 1989)	563	484	-14.0	0.25
18.1	POA Act for crimes committed against SCs	477	414	-13.2	0.21
18.2	POA Act for crimes committed against STs	86	70	-18.6	0.04
19	Forest Act, 1927	39	19	-51.3	0.01
20	Prohibition of Child Marriage Act, 2006	72	78	8.3	0.04
21	Protection of Women from Domestic Violence Act, 2005	6	24	300.0	0.01
22	Information Technology Act, 2000	235	236	0.4	0.12
23	Official Secrets Act, 1923	1	0	-100.0	0.00
24	Electricity Act, 2003	573	719	25.5	0.37
25	Wildlife Protection Act, 1972	146	65	-55.5	0.03
26	Bonded Labour System (Abolition) Act, 1976	30	4	-86.7	0.00
26.1	Against SCs	0	0	0.0	0.00
26.2	Against STs	0	0	0.0	0.00
26.3	Against others	30	4	-86.7	0.00
27	Environmental (Protection) Act, 1986	43	79	83.7	0.04
28	Air (Prevention & Control of Pollution) Act, 1981	83	80	-3.6	0.04

तक्ता क्र. ६६

सन २०१५ मध्ये विशेष व स्थानिक कायद्यांतर्गत अटक आरोपी, टक्केवारीतील तफावत व हिस्सेवारी (गुन्हे शीर्ष-निहाय)

TABLE NO. 66

Persons Arrested Under Sll Crimes During 2015 And Percentage Variation During 2015 As Compared To 2014 (Crime Head-Wise)

Sr. No.	Crime Head	2014	2015	Percentage Variation During 2015 As Compared To 2014	Persantage Share Of Arrestees During 2015
1	2	3	4	5	6
29	Water (Prevention & Control of Pollution) Act, 1974(as amended in 1988)	1	1	0.0	0.00
30	National Security Act, 1980	0	1	-	0.00
31	Unlawful Activities (Prevention) Act, 1967	0	0	0.0	0.00
32	Young Persons (Harmful Publications) Act, 1956	0	0	0.0	0.00
33	Railway Property (Unlawful Possession) Act, 1966	0	0	0.0	0.00
34	Prevention of Damage to Public Property Act, 1984	219	179	-18.3	0.09
35	Transplantation of Human Organs Act, 1994	0	0	0.0	0.00
36	Trade Marks Act, 1999	2	7	250.0	0.00
37	Prevention of Insults to National Honour Act, 1971	19	13	-31.6	0.01
38	State Emblem (Prohibition of Improper Use) Act, 2005	0	1	-	0.00
39	Lotteries (Regulation) Act, 1998	106	27	-74.5	0.01
40	Citizenship Act, 1955	0	0	0.0	0.00
41	Foreigners Act, 1946	16	23	43.8	0.01
42	Place of Worship (Special Provisions) Act, 1991	0	0	0.0	0.00
43	Religious Institution (Prevention of Misuse) Act, 1988	1	0	-100.0	0.00
44	Representation of People Act, 1951	113	23	-79.6	0.01
45	Emigration Act, 1983	0	0	0.0	0.00
46	Juvenile Justice (Care and Protection of Children) Act, 2000	129	302	134.1	0.16
47	Infant Substitutes Regulation Act, 2003	0	0	0.0	0.00
48	Anti-Hijacking Act, 1982	0	0	0.0	0.00
49	Atomic Energy Act, 1962	1	0	-100.0	0.00
50	Weapons of Mass Destruction (Proh. of Unlawful Activities) Act, 2005	0	0	0.0	0.00
51	Suppression of Unlawful Acts against Safety of Civil Aviation Act, 1982	0	0	0.0	0.00
52	Safety of Maritime Navigation Act, 2002	0	0	0.0	0.00
53	Manual Scavengers and Construction of Dry Latrines (P) Act, 1993	0	0	0.0	0.00
54	Pre-Natal Diagnostic Techniques (Reg and Prev of Misuse) Act, 1994	1	0	-100.0	0.00
55	The Maritime Zones of India (Reg of Fishing by Foreign Vessels) Act, 1981	0	0	0.0	0.00
56	Other SLL crimes	40319	43835	8.7	22.66
Total Cognizable SLL crimes		**174830**	**193419**	**10.6**	**100.00**

तक्ता क्र. ६७

सन २०१५ मध्ये विशेष व स्थानिक कायद्यांतर्गत गुन्ह्यांमध्ये अटक आरोपी (गुन्हे शीर्ष व लिंग निहाय)

TABLE NO. 67

Persons Arrested Under Special And Local Laws (SLL) During 2015 (Crime Head And Gender Wise)

Sr. No.	Crime Head	Male	Female	Total	Percentage of Total	
					Male	Female
1	2	3	4	5	6	7
1	Arms Act, 1959	1685	5	1690	99.7	0.3
2	Narcotic Drugs & Psychotropic Substances Act, 1985	19915	81	19996	99.6	0.4
3	Gambling Act, 1867	53425	100	53525	99.8	0.2
4	Excise Act, 1944	2	0	2	100.0	0.0
5	Prohibition Act	64003	4997	69000	92.8	7.2
6	Explosives and Explosive Substances Act	59	0	59	100.0	0.0
7	Immoral Traffic (Prevention) Act, 1956	445	473	918	48.5	51.5
7.1	Under Section 5	204	84	288	70.8	29.2
7.2	Under Section 6	27	16	43	62.8	37.2
7.3	Under Section 7	48	36	84	57.1	42.9
7.4	Under Section 8	47	205	252	18.7	81.3
7.5	Other Sections under ITP Act	119	132	251	47.4	52.6
8	Indian Railways Act, 1989	6	0	6	100.0	0.0
9	Registration of Foreigners Act, 1939	1	0	1	100.0	0.0
10	Protection of Civil Rights Act, 1955	7	4	11	63.6	36.4
10.1	PCR Act for crimes committed against SCs	7	4	11	63.6	36.4
10.2	PCR Act for crimes committed against STs	0	0	0	-	-
10.3	PCR Act for crimes committed against Others	0	0	0	-	-
11	Passport Act, 1967	166	40	206	80.6	19.4
12	Essential Commodities Act, 1955	1079	29	1108	97.4	2.6
13	Antiquities & Art Treasures Act, 1972	3	0	3	100.0	0.0
14	Dowry Prohibition Act, 1961	92	11	103	89.3	10.7
15	Indecent Representation of Women (Prohibition) Act, 1986	0	0	0	-	-
16	Copyright Act, 1957	551	1	552	99.8	0.2
17	Protection of Children from Sexual Offence Act 1987	36	3	39	92.3	7.7
18	SC/ST (Prevention of Atrocities) Act, 1989)	444	40	484	91.7	8.3
18.1	POA Act for crimes committed against SCs	379	35	414	91.5	8.5
18.2	POA Act for crimes committed against STs	65	5	70	92.9	7.1
19	Forest Act, 1927	19	0	19	100.0	0.0
20	Prohibition of Child Marriage Act, 2006	62	16	78	79.5	20.5
21	Protection of Women from Domestic Violence Act, 2005	22	2	24	91.7	8.3
22	Information Technology Act, 2000	232	4	236	98.3	1.7
23	Official Secrets Act, 1923	0	0	0	-	-
24	Electricity Act, 2003	693	26	719	96.4	3.6
25	Wildlife Protection Act, 1972	65	0	65	100.0	0.0
26	Bonded Labour System (Abolition) Act, 1976	4	0	4	100.0	0.0
26.1	Against SCs	0	0	0	-	-
26.2	Against STs	0	0	0	-	-
26.3	Against others	4	0	4	100.0	0.0
27	Environmental (Protection) Act, 1986	79	0	79	100.0	0.0

तक्ता क्र. ६७

सन २०१५ मध्ये विशेष व स्थानिक कायद्यांतर्गत गुन्ह्यांमध्ये अटक आरोपी (गुन्हे शीर्ष व लिंग निहाय)

TABLE NO. 67

Persons Arrested Under Special And Local Laws (SLL) During 2015 (Crime Head And Gender Wise)

Sr. No.	Crime Head	Male	Female	Total	Percentage of Total	
					Male	Female
1	2	3	4	5	6	7
28	Air (Prevention & Control of Pollution) Act, 1981	80	0	80	100.0	0.0
29	Water (Prevention & Control of Pollution) Act, 1974(as amended in 1988)	1	0	1	100.0	0.0
30	National Security Act, 1980	1	0	1	100.0	0.0
31	Unlawful Activities (Prevention) Act, 1967	0	0	0	-	-
32	Young Persons (Harmful Publications) Act, 1956	0	0	0	-	-
33	Railway Property (Unlawful Possession) Act, 1966	0	0	0	-	-
34	Prevention of Damage to Public Property Act, 1984	177	2	179	98.9	1.1
35	Transplantation of Human Organs Act, 1994	0	0	0	-	-
36	Trade Marks Act, 1999	7	0	7	100.0	0.0
37	Prevention of Insults to National Honour Act, 1971	12	1	13	92.3	7.7
38	State Emblem (Prohibition of Improper Use) Act, 2005	1	0	1	100.0	0.0
39	Lotteries (Regulation) Act, 1998	27	0	27	100.0	0.0
40	Citizenship Act, 1955	0	0	0	-	-
41	Foreigners Act, 1946	20	3	23	87.0	13.0
42	Place of Worship (Special Provisions) Act, 1991	0	0	0	-	-
43	Religious Institution (Prevention of Misuse) Act, 1988	0	0	0	-	-
44	Representation of People Act, 1951	23	0	23	100.0	0.0
45	Emigration Act, 1983	0	0	0	-	-
46	Juvenile Justice (Care and Protection of Children) Act, 2000	205	97	302	67.9	32.1
47	Infant Substitutes Regulation Act, 2003	0	0	0	-	-
48	Anti-Hijacking Act, 1982	0	0	0	-	-
49	Atomic Energy Act, 1962	0	0	0	-	-
50	Weapons of Mass Destruction (Proh. of Unlawful Activities) Act, 2005	0	0	0	-	-
51	Suppression of Unlawful Acts against Safety of Civil Aviation Act, 1982	0	0	0	-	-
52	Safety of Maritime Navigation Act, 2002	0	0	0	-	-
53	Manual Scavengers and Construction of Dry Latrines (P) Act, 1993	0	0	0	-	-
54	Pre-Natal Diagnostic Techniques (Reg and Prev of Misuse) Act, 1994	0	0	0	-	-
55	The Maritime Zones of India (Reg of Fishing by Foreign Vessels) Act, 1981	0	0	0	-	-
56	Other SLL crimes	42619	1216	43835	97.2	2.8
	Total Cognizable SLL crimes	**186268**	**7151**	**193419**	**96.3**	**3.7**

तक्ता क्र. ६८ (पुढे चालू)

सन २०१५ मध्ये विशेष व स्थानिक कायदयांर्गत गुन्ह्यांमधील घटक-निहाय अटक आरोपी (लिंग-निहाय व गुन्हे शीर्ष-निहाय)

TABLE NO. 68 (Contd…)

Unit-Wise Persons Arrested Under S.L.L. Crime During 2015 (Gender-Wise And Crimehead- Wise)

Sr. No.	Unit	Arms Act, 1959			Narcotic Drugs & Psychotropic Substances Act, 1985			Gambling Act, 1867		
		Male	Female	Total	Male	Female	Total	Male	Female	Total
1	2	3	4	5	6	7	8	9	10	11
1	Akola	41	0	41.00	7	0	7.00	1232	0	1232.00
2	Amravati Rural	13	0	13.00	7	0	7.00	1578	0	1578.00
3	Buldhana	25	0	25.00	2	0	2.00	2632	0	2632.00
4	Yavatmal	23	0	23.00	4	0	4.00	2565	0	2565.00
5	Washim	6	0	6.00	3	1	4.00	449	0	449.00
*	**Amaravati Range**	**108**	**0**	**108.00**	**23**	**1**	**24.00**	**8456**	**0**	**8456.00**
6	Aurangabad Rural	22	0	22.00	6	0	6.00	1021	0	1021.00
7	Jalna	10	0	10.00	0	0	0.00	1468	0	1468.00
8	Beed	56	0	56.00	3	0	3.00	2893	0	2893.00
9	Osmanabad	3	0	3.00	5	1	6.00	1317	0	1317.00
*	**A'bad Range**	**91**	**0**	**91.00**	**14**	**1**	**15.00**	**6699**	**0**	**6699.00**
10	Nanded	35	0	35.00	5	0	5.00	1398	0	1398.00
11	Latur	12	0	12.00	7	0	7.00	1181	0	1181.00
12	Parbhani	13	0	13.00	0	0	0.00	1519	0	1519.00
13	Hingoli	2	0	2.00	2	0	2.00	737	0	737.00
*	**Nanded Range**	**62**	**0**	**62.00**	**14**	**0**	**14.00**	**4835**	**0**	**4835.00**
14	Kolhapur	37	0	37.00	6	0	6.00	1180	3	1183.00
15	Pune Rural	82	0	82.00	6	0	6.00	1209	0	1209.00
16	Sangli	41	0	41.00	4	0	4.00	1268	3	1271.00
17	Satara	16	0	16.00	10	2	12.00	1302	3	1305.00
18	Solapur Rural	5	0	5.00	4	0	4.00	2221	0	2221.00
*	**Kolhapur Range**	**181**	**0**	**181.00**	**30**	**2**	**32.00**	**7180**	**9**	**7189.00**
19	Bhandara	6	0	6.00	9	1	10.00	786	0	786.00
20	Chandrapur	21	0	21.00	2	0	2.00	1383	0	1383.00
21	Nagpur Rural	22	0	22.00	5	0	5.00	1946	0	1946.00
22	Wardha	32	0	32.00	5	0	5.00	1172	0	1172.00
*	**Nagpur Range**	**81**	**0**	**81.00**	**21**	**1**	**22.00**	**5287**	**0**	**5287.00**
23	Gadchiroli	9	0	9.00	2	0	2.00	290	5	295.00
24	Gondia	4	0	4.00	2	0	2.00	339	0	339.00
*	**Gadchiroli Range**	**13**	**0**	**13.00**	**4**	**0**	**4.00**	**629**	**5**	**634.00**
25	Ahmednagar	56	0	56.00	11	0	11.00	1879	0	1879.00
26	Dhule	8	0	8.00	3	0	3.00	506	0	506.00
27	Jalgaon	54	0	54.00	10	0	10.00	1771	0	1771.00
28	Nasik Rural	35	0	35.00	8	0	8.00	777	0	777.00
29	Nandurbar	5	0	5.00	1	0	1.00	416	0	416.00
*	**Nasik Range**	**158**	**0**	**158.00**	**33**	**0**	**33.00**	**5349**	**0**	**5349.00**
30	Raigad	12	0	12.00	3	0	3.00	192	1	193.00
31	Ratnagiri	23	0	23.00	4	1	5.00	71	0	71.00
32	Sindhudurg	3	0	3.00	0	0	0.00	127	0	127.00
33	Thane Rural	21	0	21.00	9	1	10.00	212	9	221.00
34	Palghar	11	0	11.00	12	3	15.00	83	2	85.00
*	**Thane Range**	**70**	**0**	**70.00**	**28**	**5**	**33.00**	**685**	**12**	**697.00**
35	Mumbai Railway	3	0	3.00	9	0	9.00	17	0	17.00
36	Pune Railway	0	0	0.00	0	0	0.00	12	0	12.00
37	Nagpur Railway	5	0	5.00	13	1	14.00	8	0	8.00
*	**Railways Range**	**8**	**0**	**8.00**	**22**	**1**	**23.00**	**37**	**0**	**37.00**
38	Nagpur Commr.	345	0	345.00	66	5	71.00	3068	7	3075.00
39	Pune Commr.	159	0	159.00	88	2	90.00	2041	3	2044.00
40	Thane Commr.	73	0	73.00	103	5	108.00	1071	15	1086.00
41	Mumbai Commr.	169	5	174.00	19410	49	19459.00	4726	47	4773.00
42	Nasik Commr.	64	0	64.00	12	0	12.00	675	0	675.00
43	Aurangabad Commr.	24	0	24.00	1	0	1.00	353	0	353.00
44	Solapur Commr.	10	0	10.00	0	0	0.00	633	0	633.00
45	Navi Mumbai	42	0	42.00	35	7	42.00	745	2	747.00
46	Amravati Commr.	27	0	27.00	11	2	13.00	956	0	956.00
*	**Total of Commrs.**	**913**	**5**	**918**	**19726**	**70**	**19796**	**14268**	**74**	**14342**
**	**Total**	**1685**	**5**	**1690**	**19915**	**81**	**19996**	**53425**	**100**	**53525**

तक्ता क्र. ६८ (पुढे चालू)

सन २०१५ मध्ये विशेष व स्थानिक कायदयांर्गत गुन्ह्यांमधील घटक-निहाय अटक आरोपी (लिंग-निहाय व गुन्हे शीर्ष-निहाय)

TABLE NO. 68 (Contd…)

Unit-Wise Persons Arrested Under S.L.L. Crime During 2015 (Gender-Wise And Crimehead- Wise)

Sr. No.	Unit	Excise Act, 1944			Prohibition Act			Explosives & Explosive Substances Act, 1884 & 1908		
		Male	Female	Total	Male	Female	Total	Male	Female	Total
1	2	12	13	14	15	16	17	18	19	20
1	Akola	0	0	0.00	1301	71	1372.00	0	0	0.00
2	Amravati Rural	0	0	0.00	3271	41	3312.00	0	0	0.00
3	Buldhana	0	0	0.00	2849	248	3097.00	6	0	6.00
4	Yavatmal	0	0	0.00	3091	237	3328.00	2	0	2.00
5	Washim	0	0	0.00	1106	63	1169.00	0	0	0.00
*	**Amaravati Range**	**0**	**0**	**0.00**	**11618**	**660**	**12278.00**	**8**	**0**	**8.00**
6	Aurangabad Rural	0	0	0.00	1115	12	1127.00	0	0	0.00
7	Jalna	0	0	0.00	1456	0	1456.00	0	0	0.00
8	Beed	0	0	0.00	1136	56	1192.00	3	0	3.00
9	Osmanabad	0	0	0.00	618	78	696.00	0	0	0.00
*	**A'bad Range**	**0**	**0**	**0.00**	**4325**	**146**	**4471.00**	**3**	**0**	**3.00**
10	Nanded	0	0	0.00	1432	102	1534.00	0	0	0.00
11	Latur	0	0	0.00	1060	26	1086.00	9	0	9.00
12	Parbhani	0	0	0.00	640	48	688.00	0	0	0.00
13	Hingoli	0	0	0.00	540	34	574.00	0	0	0.00
*	**Nanded Range**	**0**	**0**	**0.00**	**3672**	**210**	**3882.00**	**9**	**0**	**9.00**
14	Kolhapur	0	0	0.00	630	49	679.00	3	0	3.00
15	Pune Rural	0	0	0.00	1504	63	1567.00	11	0	11.00
16	Sangli	0	0	0.00	582	59	641.00	13	0	13.00
17	Satara	0	0	0.00	666	80	746.00	2	0	2.00
18	Solapur Rural	0	0	0.00	3010	141	3151.00	4	0	4.00
*	**Kolhapur Range**	**0**	**0**	**0.00**	**6392**	**392**	**6784.00**	**33**	**0**	**33.00**
19	Bhandara	0	0	0.00	1438	197	1635.00	0	0	0.00
20	Chandrapur	0	0	0.00	6170	452	6622.00	0	0	0.00
21	Nagpur Rural	0	0	0.00	3021	83	3104.00	0	0	0.00
22	Wardha	0	0	0.00	10627	205	10832.00	1	0	1.00
*	**Nagpur Range**	**0**	**0**	**0.00**	**21256**	**937**	**22193.00**	**1**	**0**	**1.00**
23	Gadchiroli	0	0	0.00	1388	550	1938.00	0	0	0.00
24	Gondia	0	0	0.00	1773	269	2042.00	0	0	0.00
*	**Gadchiroli Range**	**0**	**0**	**0.00**	**3161**	**819**	**3980.00**	**0**	**0**	**0.00**
25	Ahmednagar	0	0	0.00	1951	129	2080.00	1	0	1.00
26	Dhule	0	0	0.00	618	40	658.00	0	0	0.00
27	Jalgaon	0	0	0.00	1936	118	2054.00	0	0	0.00
28	Nasik Rural	0	0	0.00	1071	165	1236.00	0	0	0.00
29	Nandurbar	0	0	0.00	642	39	681.00	0	0	0.00
*	**Nasik Range**	**0**	**0**	**0.00**	**6218**	**491**	**6709.00**	**1**	**0**	**1.00**
30	Raigad	0	0	0.00	319	83	402.00	0	0	0.00
31	Ratnagiri	0	0	0.00	303	27	330.00	0	0	0.00
32	Sindhudurg	0	0	0.00	154	38	192.00	2	0	2.00
33	Thane Rural	0	0	0.00	336	76	412.00	0	0	0.00
34	Palghar	0	0	0.00	286	66	352.00	0	0	0.00
*	**Thane Range**	**0**	**0**	**0.00**	**1398**	**290**	**1688.00**	**2**	**0**	**2.00**
35	Mumbai Railway	0	0	0.00	11	0	11.00	0	0	0.00
36	Pune Railway	0	0	0.00	0	0	0.00	0	0	0.00
37	Nagpur Railway	0	0	0.00	91	15	106.00	0	0	0.00
*	**Railways Range**	**0**	**0**	**0.00**	**102**	**15**	**117.00**	**0**	**0**	**0.00**
38	Nagpur Commr.	0	0	0.00	1174	239	1413.00	0	0	0.00
39	Pune Commr.	2	0	2.00	1192	325	1517.00	1	0	1.00
40	Thane Commr.	0	0	0.00	368	70	438.00	0	0	0.00
41	Mumbai Commr.	0	0	0.00	470	196	666.00	0	0	0.00
42	Nasik Commr.	0	0	0.00	227	3	230.00	1	0	1.00
43	Aurangabad Commr.	0	0	0.00	506	47	553.00	0	0	0.00
44	Solapur Commr.	0	0	0.00	704	0	704.00	0	0	0.00
45	Navi Mumbai	0	0	0.00	359	112	471.00	0	0	0.00
46	Amravati Commr.	0	0	0.00	861	45	906.00	0	0	0.00
*	**Total of Commrs.**	**2**	**0**	**2**	**5861**	**1037**	**6898**	**2**	**0**	**2**
**	**Total**	**2**	**0**	**2**	**64003**	**4997**	**69000**	**59**	**0**	**59**

तक्ता क्र. ६८ (पुढे चालू)

सन २०१५ मध्ये विशेष व स्थानिक कायदयांर्गत गुन्ह्यांमधील घटक-निहाय अटक आरोपी (लिंग-निहाय व गुन्हे शीर्ष-निहाय)

TABLE NO. 68 (Contd…)

Unit-Wise Persons Arrested Under S.L.L. Crime During 2015 (Gender-Wise And Crimehead- Wise)

Sr. No.	Unit	Immoral Traffic (Prevention) Act, 1956								
		Immoral Traffic (Prevention) Act,1956 (Total)			Under Section 5			Under Section 6		
		Male	Female	Total	Male	Female	Total	Male	Female	Total
1	2	21	22	23	24	25	26	27	28	29
1	Akola	0	0	0.00	0	0	0.00	0	0	0.00
2	Amravati Rural	0	0	0.00	0	0	0.00	0	0	0.00
3	Buldhana	0	0	0.00	0	0	0.00	0	0	0.00
4	Yavatmal	0	6	6.00	0	4	4.00	0	0	0.00
5	Washim	0	0	0.00	0	0	0.00	0	0	0.00
*	**Amaravati Range**	**0**	**6**	**6.00**	**0**	**4**	**4.00**	**0**	**0**	**0.00**
6	Aurangabad Rural	1	1	2.00	0	0	0.00	0	0	0.00
7	Jalna	12	0	12.00	0	0	0.00	0	0	0.00
8	Beed	26	3	29.00	8	0	8.00	18	3	21.00
9	Osmanabad	0	0	0.00	0	0	0.00	0	0	0.00
*	**A'bad Range**	**39**	**4**	**43.00**	**8**	**0**	**8.00**	**18**	**3**	**21.00**
10	Nanded	2	5	7.00	0	0	0.00	0	0	0.00
11	Latur	6	7	13.00	0	0	0.00	0	0	0.00
12	Parbhani	0	0	0.00	0	0	0.00	0	0	0.00
13	Hingoli	0	0	0.00	0	0	0.00	0	0	0.00
*	**Nanded Range**	**8**	**12**	**20.00**	**0**	**0**	**0.00**	**0**	**0**	**0.00**
14	Kolhapur	53	3	56.00	7	1	8.00	0	0	0.00
15	Pune Rural	8	2	10.00	8	2	10.00	0	0	0.00
16	Sangli	2	1	3.00	0	0	0.00	0	0	0.00
17	Satara	5	0	5.00	0	0	0.00	0	0	0.00
18	Solapur Rural	0	0	0.00	0	0	0.00	0	0	0.00
*	**Kolhapur Range**	**68**	**6**	**74.00**	**15**	**3**	**18.00**	**0**	**0**	**0.00**
19	Bhandara	5	2	7.00	0	0	0.00	0	0	0.00
20	Chandrapur	7	4	11.00	0	0	0.00	0	0	0.00
21	Nagpur Rural	0	0	0.00	0	0	0.00	0	0	0.00
22	Wardha	0	0	0.00	0	0	0.00	0	0	0.00
*	**Nagpur Range**	**12**	**6**	**18.00**	**0**	**0**	**0.00**	**0**	**0**	**0.00**
23	Gadchiroli	0	0	0.00	0	0	0.00	0	0	0.00
24	Gondia	0	0	0.00	0	0	0.00	0	0	0.00
*	**Gadchiroli Range**	**0**	**0**	**0.00**	**0**	**0**	**0.00**	**0**	**0**	**0.00**
25	Ahmednagar	6	0	6.00	6	0	6.00	0	0	0.00
26	Dhule	0	0	0.00	0	0	0.00	0	0	0.00
27	Jalgaon	3	14	17.00	0	0	0.00	0	0	0.00
28	Nasik Rural	6	9	15.00	0	0	0.00	6	9	15.00
29	Nandurbar	5	0	5.00	0	0	0.00	0	0	0.00
*	**Nasik Range**	**20**	**23**	**43.00**	**6**	**0**	**6.00**	**6**	**9**	**15.00**
30	Raigad	0	0	0.00	0	0	0.00	0	0	0.00
31	Ratnagiri	0	0	0.00	0	0	0.00	0	0	0.00
32	Sindhudurg	0	0	0.00	0	0	0.00	0	0	0.00
33	Thane Rural	21	5	26.00	0	0	0.00	0	0	0.00
34	Palghar	7	6	13.00	0	0	0.00	0	0	0.00
*	**Thane Range**	**28**	**11**	**39.00**	**0**	**0**	**0.00**	**0**	**0**	**0.00**
35	Mumbai Railway	0	0	0.00	0	0	0.00	0	0	0.00
36	Pune Railway	0	0	0.00	0	0	0.00	0	0	0.00
37	Nagpur Railway	0	0	0.00	0	0	0.00	0	0	0.00
*	**Railways Range**	**0**	**0**	**0.00**	**0**	**0**	**0.00**	**0**	**0**	**0.00**
38	Nagpur Commr.	33	198	231.00	16	7	23.00	3	4	7.00
39	Pune Commr.	81	34	115.00	71	33	104.00	0	0	0.00
40	Thane Commr.	25	19	44.00	17	9	26.00	0	0	0.00
41	Mumbai Commr.	80	123	203.00	41	19	60.00	0	0	0.00
42	Nasik Commr.	16	3	19.00	8	3	11.00	0	0	0.00
43	Aurangabad Commr.	10	2	12.00	10	2	12.00	0	0	0.00
44	Solapur Commr.	4	0	4.00	0	0	0.00	0	0	0.00
45	Navi Mumbai	21	26	47.00	12	4	16.00	0	0	0.00
46	Amravati Commr.	0	0	0.00	0	0	0.00	0	0	0.00
*	**Total of Commrs.**	**270**	**405**	**675**	**175**	**77**	**252**	**3**	**4**	**7**
**	**Total**	**445**	**473**	**918**	**204**	**84**	**288**	**27**	**16**	**43**

तक्ता क्र. ६८ (पुढे चालू)

सन २०१५ मध्ये विशेष व स्थानिक कायदयांर्गत गुन्ह्यांमधील घटक-निहाय अटक आरोपी (लिंग-निहाय व गुन्हे शीर्ष-निहाय)

TABLE NO. 68 (Contd…)

Unit-Wise Persons Arrested Under S.L.L. Crime During 2015 (Gender-Wise And Crimehead- Wise)

Sr. No.	Unit	Immoral Traffic (Prevention) Act, 1956								
		Under Section 7			Under Section 8			Others		
		Male	Female	Total	Male	Female	Total	Male	Female	Total
1	2	30	31	32	33	34	35	36	37	38
1	Akola	0	0	0.00	0	0	0.00	0	0	0.00
2	Amravati Rural	0	0	0.00	0	0	0.00	0	0	0.00
3	Buldhana	0	0	0.00	0	0	0.00	0	0	0.00
4	Yavatmal	0	0	0.00	0	0	0.00	0	2	2.00
5	Washim	0	0	0.00	0	0	0.00	0	0	0.00
*	**Amaravati Range**	**0**	**0**	**0.00**	**0**	**0**	**0.00**	**0**	**2**	**2.00**
6	Aurangabad Rural	1	1	2.00	0	0	0.00	0	0	0.00
7	Jalna	0	0	0.00	0	0	0.00	12	0	12.00
8	Beed	0	0	0.00	0	0	0.00	0	0	0.00
9	Osmanabad	0	0	0.00	0	0	0.00	0	0	0.00
*	**A'bad Range**	**1**	**1**	**2.00**	**0**	**0**	**0.00**	**12**	**0**	**12.00**
10	Nanded	0	0	0.00	0	0	0.00	2	5	7.00
11	Latur	6	7	13.00	0	0	0.00	0	0	0.00
12	Parbhani	0	0	0.00	0	0	0.00	0	0	0.00
13	Hingoli	0	0	0.00	0	0	0.00	0	0	0.00
*	**Nanded Range**	**6**	**7**	**13.00**	**0**	**0**	**0.00**	**2**	**5**	**7.00**
14	Kolhapur	0	0	0.00	41	0	41.00	5	2	7.00
15	Pune Rural	0	0	0.00	0	0	0.00	0	0	0.00
16	Sangli	0	0	0.00	0	0	0.00	2	1	3.00
17	Satara	5	0	5.00	0	0	0.00	0	0	0.00
18	Solapur Rural	0	0	0.00	0	0	0.00	0	0	0.00
*	**Kolhapur Range**	**5**	**0**	**5.00**	**41**	**0**	**41.00**	**7**	**3**	**10.00**
19	Bhandara	5	2	7.00	0	0	0.00	0	0	0.00
20	Chandrapur	0	0	0.00	0	0	0.00	7	4	11.00
21	Nagpur Rural	0	0	0.00	0	0	0.00	0	0	0.00
22	Wardha	0	0	0.00	0	0	0.00	0	0	0.00
*	**Nagpur Range**	**5**	**2**	**7.00**	**0**	**0**	**0.00**	**7**	**4**	**11.00**
23	Gadchiroli	0	0	0.00	0	0	0.00	0	0	0.00
24	Gondia	0	0	0.00	0	0	0.00	0	0	0.00
*	**Gadchiroli Range**	**0**	**0**	**0.00**	**0**	**0**	**0.00**	**0**	**0**	**0.00**
25	Ahmednagar	0	0	0.00	0	0	0	0	0	0.00
26	Dhule	0	0	0.00	0	0	0.00	0	0	0.00
27	Jalgaon	0	0	0.00	0	0	0.00	3	14	17.00
28	Nasik Rural	0	0	0.00	0	0	0.00	0	0	0.00
29	Nandurbar	0	0	0.00	0	0	0.00	5	0	5.00
*	**Nasik Range**	**0**	**0**	**0.00**	**0**	**0**	**0.00**	**8**	**14**	**22.00**
30	Raigad	0	0	0.00	0	0	0.00	0	0	0.00
31	Ratnagiri	0	0	0.00	0	0	0.00	0	0	0.00
32	Sindhudurg	0	0	0.00	0	0	0.00	0	0	0.00
33	Thane Rural	0	0	0.00	0	0	0.00	21	5	26.00
34	Palghar	0	0	0.00	0	0	0.00	7	6	13.00
*	**Thane Range**	**0**	**0**	**0.00**	**0**	**0**	**0.00**	**28**	**11**	**39.00**
35	Mumbai Railway	0	0	0.00	0	0	0.00	0	0	0.00
36	Pune Railway	0	0	0.00	0	0	0.00	0	0	0.00
37	Nagpur Railway	0	0	0.00	0	0	0.00	0	0	0.00
*	**Railways Range**	**0**	**0**	**0.00**	**0**	**0**	**0.00**	**0**	**0**	**0.00**
38	Nagpur Commr.	12	19	31.00	2	168	170.00	0	0	0.00
39	Pune Commr.	4	1	5.00	0	0	0.00	6	0	6.00
40	Thane Commr.	0	0	0.00	0	0	0.00	8	10	18.00
41	Mumbai Commr.	7	6	13.00	4	31	35.00	28	67	95.00
42	Nasik Commr.	8	0	8.00	0	0	0.00	0	0	0.00
43	Aurangabad Commr.	0	0	0.00	0	0	0.00	0	0	0.00
44	Solapur Commr.	0	0	0.00	0	0	0.00	4	0	4.00
45	Navi Mumbai	0	0	0.00	0	6	6.00	9	16	25.00
46	Amravati Commr.	0	0	0.00	0	0	0.00	0	0	0.00
*	**Total of Commrs.**	**31**	**26**	**57**	**6**	**205**	**211**	**55**	**93**	**148**
**	**Total**	**48**	**36**	**84**	**47**	**205**	**252**	**119**	**132**	**251**

तक्ता क्र. ६८ (पुढे चालू)

सन २०१५ मध्ये विशेष व स्थानिक कायदयांर्गत गुन्ह्यांमधील घटक-निहाय अटक आरोपी (लिंग-निहाय व गुन्हे शीर्ष-निहाय)

TABLE NO. 68 (Contd…)

Unit-Wise Persons Arrested Under S.L.L. Crime During 2015 (Gender-Wise And Crimehead- Wise)

Sr. No.	Unit	Indian Railways Act, 1989			Registration Of Foreigners Act, 1939			Protection Of Civil Rights Act, 1955 (Total SC+ST)		
		Male	Female	Total	Male	Female	Total	Male	Female	Total
1	2	39	40	41	42	43	44	45	46	47
1	Akola	0	0	0.00	0	0	0.00	0	0	0.00
2	Amravati Rural	0	0	0.00	0	0	0.00	0	0	0.00
3	Buldhana	0	0	0.00	0	0	0.00	0	0	0.00
4	Yavatmal	0	0	0.00	0	0	0.00	0	0	0.00
5	Washim	0	0	0.00	0	0	0.00	0	0	0.00
*	**Amaravati Range**	**0**	**0**	**0.00**	**0**	**0**	**0.00**	**0**	**0**	**0.00**
6	Aurangabad Rural	0	0	0.00	0	0	0.00	0	0	0.00
7	Jalna	0	0	0.00	0	0	0.00	0	0	0.00
8	Beed	0	0	0.00	0	0	0.00	0	0	0.00
9	Osmanabad	0	0	0.00	0	0	0.00	0	0	0.00
*	**A'bad Range**	**0**	**0**	**0.00**	**0**	**0**	**0.00**	**0**	**0**	**0.00**
10	Nanded	0	0	0.00	0	0	0.00	0	0	0.00
11	Latur	0	0	0.00	0	0	0.00	0	0	0.00
12	Parbhani	0	0	0.00	0	0	0.00	0	0	0.00
13	Hingoli	0	0	0.00	0	0	0.00	0	0	0.00
*	**Nanded Range**	**0**	**0**	**0.00**	**0**	**0**	**0.00**	**0**	**0**	**0.00**
14	Kolhapur	0	0	0.00	0	0	0.00	4	0	4.00
15	Pune Rural	0	0	0.00	0	0	0.00	0	0	0.00
16	Sangli	0	0	0.00	0	0	0.00	0	0	0.00
17	Satara	0	0	0.00	0	0	0.00	0	0	0.00
18	Solapur Rural	0	0	0.00	0	0	0.00	0	0	0.00
*	**Kolhapur Range**	**0**	**0**	**0.00**	**0**	**0**	**0.00**	**4**	**0**	**4.00**
19	Bhandara	0	0	0.00	0	0	0.00	0	0	0.00
20	Chandrapur	0	0	0.00	0	0	0.00	0	0	0.00
21	Nagpur Rural	0	0	0.00	0	0	0.00	0	0	0.00
22	Wardha	0	0	0.00	0	0	0.00	0	0	0.00
*	**Nagpur Range**	**0**	**0**	**0.00**	**0**	**0**	**0.00**	**0**	**0**	**0.00**
23	Gadchiroli	0	0	0.00	0	0	0.00	0	0	0.00
24	Gondia	0	0	0.00	0	0	0.00	0	0	0.00
*	**Gadchiroli Range**	**0**	**0**	**0.00**	**0**	**0**	**0.00**	**0**	**0**	**0.00**
25	Ahmednagar	0	0	0.00	0	0	0.00	0	0	0.00
26	Dhule	0	0	0.00	0	0	0.00	0	0	0.00
27	Jalgaon	0	0	0.00	0	0	0.00	0	0	0.00
28	Nasik Rural	0	0	0.00	0	0	0.00	0	0	0.00
29	Nandurbar	0	0	0.00	0	0	0.00	0	0	0.00
*	**Nasik Range**	**0**	**0**	**0.00**	**0**	**0**	**0.00**	**0**	**0**	**0.00**
30	Raigad	0	0	0.00	0	0	0.00	0	0	0.00
31	Ratnagiri	0	0	0.00	0	0	0.00	2	0	2.00
32	Sindhudurg	2	0	2.00	0	0	0.00	0	0	0.00
33	Thane Rural	0	0	0.00	0	0	0.00	0	0	0.00
34	Palghar	0	0	0.00	0	0	0.00	0	0	0.00
*	**Thane Range**	**2**	**0**	**2.00**	**0**	**0**	**0.00**	**2**	**0**	**2.00**
35	Mumbai Railway	1	0	1.00	0	0	0.00	0	0	0.00
36	Pune Railway	3	0	3.00	0	0	0.00	0	0	0.00
37	Nagpur Railway	0	0	0.00	0	0	0.00	0	0	0.00
*	**Railways Range**	**4**	**0**	**4.00**	**0**	**0**	**0.00**	**0**	**0**	**0.00**
38	Nagpur Commr.	0	0	0.00	0	0	0.00	0	0	0.00
39	Pune Commr.	0	0	0.00	0	0	0.00	0	0	0.00
40	Thane Commr.	0	0	0.00	0	0	0.00	0	0	0.00
41	Mumbai Commr.	0	0	0.00	1	0	1.00	1	4	5.00
42	Nasik Commr.	0	0	0.00	0	0	0.00	0	0	0.00
43	Aurangabad Commr.	0	0	0.00	0	0	0.00	0	0	0.00
44	Solapur Commr.	0	0	0.00	0	0	0.00	0	0	0.00
45	Navi Mumbai	0	0	0.00	0	0	0.00	0	0	0.00
46	Amravati Commr.	0	0	0.00	0	0	0.00	0	0	0.00
*	**Total of Commrs.**	**0**	**0**	**0**	**1**	**0**	**1**	**1**	**4**	**5**
**	**Total**	**6**	**0**	**6**	**1**	**0**	**1**	**7**	**4**	**11**

तक्ता क्र. ६८ (पुढे चालू)

सन २०१५ मध्ये विशेष व स्थानिक कायदयांर्गत गुन्ह्यांमधील घटक-निहाय अटक आरोपी (लिंग-निहाय व गुन्हे शीर्ष-निहाय)

TABLE NO. 68 (Contd…)

Unit-Wise Persons Arrested Under S.L.L. Crime During 2015 (Gender-Wise And Crimehead- Wise)

Sr. No.	Unit	Protection Of Civil Rights Act, 1955								
		For Crimes Committed Against SCs			For Crimes Committed Against STs			For Crimes Committed Against Others		
		Male	Female	Total	Male	Female	Total	Male	Female	Total
1	2	48	49	50	51	52	53	54	55	56
1	Akola	0	0	0.00	0	0	0.00	0	0	0.00
2	Amravati Rural	0	0	0.00	0	0	0.00	0	0	0.00
3	Buldhana	0	0	0.00	0	0	0.00	0	0	0.00
4	Yavatmal	0	0	0.00	0	0	0.00	0	0	0.00
5	Washim	0	0	0.00	0	0	0.00	0	0	0.00
*	**Amaravati Range**	**0**	**0**	**0.00**	**0**	**0**	**0.00**	**0**	**0**	**0.00**
6	Aurangabad Rural	0	0	0.00	0	0	0.00	0	0	0.00
7	Jalna	0	0	0.00	0	0	0.00	0	0	0.00
8	Beed	0	0	0.00	0	0	0.00	0	0	0.00
9	Osmanabad	0	0	0.00	0	0	0.00	0	0	0.00
*	**A'bad Range**	**0**	**0**	**0.00**	**0**	**0**	**0.00**	**0**	**0**	**0.00**
10	Nanded	0	0	0.00	0	0	0.00	0	0	0.00
11	Latur	0	0	0.00	0	0	0.00	0	0	0.00
12	Parbhani	0	0	0.00	0	0	0.00	0	0	0.00
13	Hingoli	0	0	0.00	0	0	0.00	0	0	0.00
*	**Nanded Range**	**0**	**0**	**0.00**	**0**	**0**	**0.00**	**0**	**0**	**0.00**
14	Kolhapur	4	0	4.00	0	0	0.00	0	0	0.00
15	Pune Rural	0	0	0.00	0	0	0.00	0	0	0.00
16	Sangli	0	0	0.00	0	0	0.00	0	0	0.00
17	Satara	0	0	0.00	0	0	0.00	0	0	0.00
18	Solapur Rural	0	0	0.00	0	0	0.00	0	0	0.00
*	**Kolhapur Range**	**4**	**0**	**4.00**	**0**	**0**	**0.00**	**0**	**0**	**0.00**
19	Bhandara	0	0	0.00	0	0	0.00	0	0	0.00
20	Chandrapur	0	0	0.00	0	0	0.00	0	0	0.00
21	Nagpur Rural	0	0	0.00	0	0	0.00	0	0	0.00
22	Wardha	0	0	0.00	0	0	0.00	0	0	0.00
*	**Nagpur Range**	**0**	**0**	**0.00**	**0**	**0**	**0.00**	**0**	**0**	**0.00**
23	Gadchiroli	0	0	0.00	0	0	0.00	0	0	0.00
24	Gondia	0	0	0.00	0	0	0.00	0	0	0.00
*	**Gadchiroli Range**	**0**	**0**	**0.00**	**0**	**0**	**0.00**	**0**	**0**	**0.00**
25	Ahmednagar	0	0	0.00	0	0	0.00	0	0	0.00
26	Dhule	0	0	0.00	0	0	0.00	0	0	0.00
27	Jalgaon	0	0	0.00	0	0	0.00	0	0	0.00
28	Nasik Rural	0	0	0.00	0	0	0.00	0	0	0.00
29	Nandurbar	0	0	0.00	0	0	0.00	0	0	0.00
*	**Nasik Range**	**0**	**0**	**0.00**	**0**	**0**	**0.00**	**0**	**0**	**0.00**
30	Raigad	0	0	0.00	0	0	0.00	0	0	0.00
31	Ratnagiri	2	0	2.00	0	0	0.00	0	0	0.00
32	Sindhudurg	0	0	0.00	0	0	0.00	0	0	0.00
33	Thane Rural	0	0	0.00	0	0	0.00	0	0	0.00
34	Palghar	0	0	0.00	0	0	0.00	0	0	0.00
*	**Thane Range**	**2**	**0**	**2.00**	**0**	**0**	**0.00**	**0**	**0**	**0.00**
35	Mumbai Railway	0	0	0.00	0	0	0.00	0	0	0.00
36	Pune Railway	0	0	0.00	0	0	0.00	0	0	0.00
37	Nagpur Railway	0	0	0.00	0	0	0.00	0	0	0.00
*	**Railways Range**	**0**	**0**	**0.00**	**0**	**0**	**0.00**	**0**	**0**	**0.00**
38	Nagpur Commr.	0	0	0.00	0	0	0.00	0	0	0.00
39	Pune Commr.	0	0	0.00	0	0	0.00	0	0	0.00
40	Thane Commr.	0	0	0.00	0	0	0.00	0	0	0.00
41	Mumbai Commr.	1	4	5.00	0	0	0.00	0	0	0.00
42	Nasik Commr.	0	0	0.00	0	0	0.00	0	0	0.00
43	Aurangabad Commr.	0	0	0.00	0	0	0.00	0	0	0.00
44	Solapur Commr.	0	0	0.00	0	0	0.00	0	0	0.00
45	Navi Mumbai	0	0	0.00	0	0	0.00	0	0	0.00
46	Amravati Commr.	0	0	0.00	0	0	0.00	0	0	0.00
*	**Total of Commrs.**	**1**	**4**	**5**	**0**	**0**	**0**	**0**	**0**	**0**
**	**Total**	**7**	**4**	**11**	**0**	**0**	**0**	**0**	**0**	**0**

तक्ता क्र. ६८ (पुढे चालू)

सन २०१५ मध्ये विशेष व स्थानिक कायदयांर्गत गुन्ह्यांमधील घटक-निहाय अटक आरोपी (लिंग-निहाय व गुन्हे शीर्ष-निहाय)

TABLE NO. 68 (Contd…)

Unit-Wise Persons Arrested Under S.L.L. Crime During 2015 (Gender-Wise And Crimehead- Wise)

Sr. No.	Unit	Passport Act, 1967			Essential Commodities Act, 1955			Antiquities & Art Treasures Act, 1972		
		Male	Female	Total	Male	Female	Total	Male	Female	Total
1	2	57	58	59	60	61	62	63	64	65
1	Akola	2	0	2.00	27	0	27.00	0	0	0.00
2	Amravati Rural	0	0	0.00	9	0	9.00	0	0	0.00
3	Buldhana	0	0	0.00	28	0	28.00	3	0	3.00
4	Yavatmal	0	0	0.00	60	2	62.00	0	0	0.00
5	Washim	0	0	0.00	8	1	9.00	0	0	0.00
*	**Amaravati Range**	2	0	2.00	132	3	135.00	3	0	3.00
6	Aurangabad Rural	0	0	0.00	14	0	14.00	0	0	0.00
7	Jalna	0	0	0.00	18	0	18.00	0	0	0.00
8	Beed	0	0	0.00	68	0	68.00	0	0	0.00
9	Osmanabad	0	0	0.00	24	0	24.00	0	0	0.00
*	**A'bad Range**	0	0	0.00	124	0	124.00	0	0	0.00
10	Nanded	0	0	0.00	57	0	57.00	0	0	0.00
11	Latur	0	0	0.00	19	0	19.00	0	0	0.00
12	Parbhani	0	0	0.00	33	0	33.00	0	0	0.00
13	Hingoli	0	0	0.00	14	0	14.00	0	0	0.00
*	**Nanded Range**	0	0	0.00	123	0	123.00	0	0	0.00
14	Kolhapur	0	0	0.00	21	0	21.00	0	0	0.00
15	Pune Rural	3	0	3.00	28	3	31.00	0	0	0.00
16	Sangli	0	0	0.00	20	1	21.00	0	0	0.00
17	Satara	0	0	0.00	8	0	8.00	0	0	0.00
18	Solapur Rural	0	0	0.00	24	0	24.00	0	0	0.00
*	**Kolhapur Range**	3	0	3.00	101	4	105.00	0	0	0.00
19	Bhandara	0	0	0.00	6	0	6.00	0	0	0.00
20	Chandrapur	0	0	0.00	2	0	2.00	0	0	0.00
21	Nagpur Rural	0	0	0.00	22	0	22.00	0	0	0.00
22	Wardha	0	0	0.00	13	0	13.00	0	0	0.00
*	**Nagpur Range**	0	0	0.00	43	0	43.00	0	0	0.00
23	Gadchiroli	0	0	0.00	6	1	7.00	0	0	0.00
24	Gondia	0	0	0.00	7	1	8.00	0	0	0.00
*	**Gadchiroli Range**	0	0	0.00	13	2	15.00	0	0	0.00
25	Ahmednagar	1	0	1.00	37	1	38.00	0	0	0.00
26	Dhule	0	0	0.00	17	0	17.00	0	0	0.00
27	Jalgaon	0	0	0.00	13	0	13.00	0	0	0.00
28	Nasik Rural	1	0	1.00	24	0	24.00	0	0	0.00
29	Nandurbar	0	0	0.00	7	0	7.00	0	0	0.00
*	**Nasik Range**	2	0	2.00	98	1	99.00	0	0	0.00
30	Raigad	19	1	20.00	5	0	5.00	0	0	0.00
31	Ratnagiri	1	0	1.00	0	0	0.00	0	0	0.00
32	Sindhudurg	0	0	0.00	0	0	0.00	0	0	0.00
33	Thane Rural	23	15	38.00	6	0	6.00	0	0	0.00
34	Palghar	0	0	0.00	24	2	26.00	0	0	0.00
*	**Thane Range**	43	16	59.00	35	2	37.00	0	0	0.00
35	Mumbai Railway	0	0	0.00	0	0	0.00	0	0	0.00
36	Pune Railway	0	0	0.00	0	0	0.00	0	0	0.00
37	Nagpur Railway	0	0	0.00	0	0	0.00	0	0	0.00
*	**Railways Range**	0	0	0.00	0	0	0.00	0	0	0.00
38	Nagpur Commr.	5	1	6.00	28	0	28.00	0	0	0.00
39	Pune Commr.	1	1	2.00	58	8	66.00	0	0	0.00
40	Thane Commr.	29	17	46.00	68	2	70.00	0	0	0.00
41	Mumbai Commr.	23	3	26.00	123	3	126.00	0	0	0.00
42	Nasik Commr.	0	0	0.00	11	0	11.00	0	0	0.00
43	Aurangabad Commr.	0	0	0.00	3	0	3.00	0	0	0.00
44	Solapur Commr.	0	0	0.00	71	0	71.00	0	0	0.00
45	Navi Mumbai	58	2	60.00	36	4	40.00	0	0	0.00
46	Amravati Commr.	0	0	0.00	12	0	12.00	0	0	0.00
*	**Total of Commrs.**	**116**	**24**	**140**	**410**	**17**	**427**	**0**	**0**	**0**
**	**Total**	**166**	**40**	**206**	**1079**	**29**	**1108**	**3**	**0**	**3**

तक्ता क्र. ६८ (पुढे चालू)

सन २०१५ मध्ये विशेष व स्थानिक कायदयांर्गत गुन्ह्यांमधील घटक-निहाय अटक आरोपी (लिंग-निहाय व गुन्हे शीर्ष-निहाय)

TABLE NO. 68 (Contd…)

Unit-Wise Persons Arrested Under S.L.L. Crime During 2015 (Gender-Wise And Crimehead- Wise)

Sr. No.	Unit	Dowry Prohibition Act, 1961			Indecent Representation Of Women (Prohibition) Act, 1986			Copyright Act, 1957		
		Male	Female	Total	Male	Female	Total	Male	Female	Total
1	2	66	67	68	69	70	71	72	73	74
1	Akola	3	0	3.00	0	0	0.00	1	0	1.00
2	Amravati Rural	0	0	0.00	0	0	0.00	1	0	1.00
3	Buldhana	4	1	5.00	0	0	0.00	0	0	0.00
4	Yavatmal	7	0	7.00	0	0	0.00	4	0	4.00
5	Washim	0	0	0.00	0	0	0.00	0	0	0.00
*	**Amaravati Range**	**14**	**1**	**15.00**	**0**	**0**	**0.00**	**6**	**0**	**6.00**
6	Aurangabad Rural	0	0	0.00	0	0	0.00	0	0	0.00
7	Jalna	0	0	0.00	0	0	0.00	0	0	0.00
8	Beed	0	0	0.00	0	0	0.00	18	0	18.00
9	Osmanabad	0	0	0.00	0	0	0.00	7	0	7.00
*	**A'bad Range**	**0**	**0**	**0.00**	**0**	**0**	**0.00**	**25**	**0**	**25.00**
10	Nanded	0	0	0.00	0	0	0.00	7	0	7.00
11	Latur	0	0	0.00	0	0	0.00	9	0	9.00
12	Parbhani	11	1	12.00	0	0	0.00	17	0	17.00
13	Hingoli	0	0	0.00	0	0	0.00	0	0	0.00
*	**Nanded Range**	**11**	**1**	**12.00**	**0**	**0**	**0.00**	**33**	**0**	**33.00**
14	Kolhapur	0	0	0.00	0	0	0.00	19	0	19.00
15	Pune Rural	0	0	0.00	0	0	0.00	9	0	9.00
16	Sangli	0	0	0.00	0	0	0.00	4	0	4.00
17	Satara	0	0	0.00	0	0	0.00	5	0	5.00
18	Solapur Rural	0	0	0.00	0	0	0.00	4	0	4.00
*	**Kolhapur Range**	**0**	**0**	**0.00**	**0**	**0**	**0.00**	**41**	**0**	**41.00**
19	Bhandara	6	1	7.00	0	0	0.00	0	0	0.00
20	Chandrapur	7	2	9.00	0	0	0.00	5	0	5.00
21	Nagpur Rural	13	2	15.00	0	0	0.00	3	0	3.00
22	Wardha	1	0	1.00	0	0	0.00	1	0	1.00
*	**Nagpur Range**	**27**	**5**	**32.00**	**0**	**0**	**0.00**	**9**	**0**	**9.00**
23	Gadchiroli	0	0	0.00	0	0	0.00	0	0	0.00
24	Gondia	20	1	21.00	0	0	0.00	0	0	0.00
*	**Gadchiroli Range**	**20**	**1**	**21.00**	**0**	**0**	**0.00**	**0**	**0**	**0.00**
25	Ahmednagar	0	0	0.00	0	0	0.00	11	0	11.00
26	Dhule	0	0	0.00	0	0	0.00	0	0	0.00
27	Jalgaon	2	0	2.00	0	0	0.00	5	0	5.00
28	Nasik Rural	0	0	0.00	0	0	0.00	0	0	0.00
29	Nandurbar	0	0	0.00	0	0	0.00	0	0	0.00
*	**Nasik Range**	**2**	**0**	**2.00**	**0**	**0**	**0.00**	**16**	**0**	**16.00**
30	Raigad	0	0	0.00	0	0	0.00	3	1	4.00
31	Ratnagiri	0	0	0.00	0	0	0.00	1	0	1.00
32	Sindhudurg	0	0	0.00	0	0	0.00	0	0	0.00
33	Thane Rural	0	0	0.00	0	0	0.00	4	0	4.00
34	Palghar	0	0	0.00	0	0	0.00	19	0	19.00
*	**Thane Range**	**0**	**0**	**0.00**	**0**	**0**	**0.00**	**27**	**1**	**28.00**
35	Mumbai Railway	0	0	0.00	0	0	0.00	0	0	0.00
36	Pune Railway	0	0	0.00	0	0	0.00	0	0	0.00
37	Nagpur Railway	0	0	0.00	0	0	0.00	0	0	0.00
*	**Railways Range**	**0**	**0**	**0.00**	**0**	**0**	**0.00**	**0**	**0**	**0.00**
38	Nagpur Commr.	16	3	19.00	0	0	0.00	22	0	22.00
39	Pune Commr.	0	0	0.00	0	0	0.00	81	0	81.00
40	Thane Commr.	0	0	0.00	0	0	0.00	27	0	27.00
41	Mumbai Commr.	0	0	0.00	0	0	0.00	228	0	228.00
42	Nasik Commr.	0	0	0.00	0	0	0.00	4	0	4.00
43	Aurangabad Commr.	0	0	0.00	0	0	0.00	6	0	6.00
44	Solapur Commr.	0	0	0.00	0	0	0.00	4	0	4.00
45	Navi Mumbai	0	0	0.00	0	0	0.00	17	0	17.00
46	Amravati Commr.	2	0	2.00	0	0	0.00	5	0	5.00
*	**Total of Commrs.**	**18**	**3**	**21**	**0**	**0**	**0**	**394**	**0**	**394**
**	**Total**	**92**	**11**	**103**	**0**	**0**	**0**	**551**	**1**	**552**

तक्ता क्र. ६८ (पुढे चालू)

सन २०१५ मध्ये विशेष व स्थानिक कायदयांर्गत गुन्ह्यांमधील घटक-निहाय अटक आरोपी (लिंग-निहाय व गुन्हे शीर्ष-निहाय)

TABLE NO. 68 (Contd…)

Unit-Wise Persons Arrested Under S.L.L. Crime During 2015 (Gender-Wise And Crimehead- Wise)

Sr. No.	Unit	Protection of children from sexual offences Act (POCSO)			SC/ST (Prevention Of Atrocities) Act, 1989					
					SC/ST (Prevention Of Atrocities) Act, 1989 SC+ST Total			for Crimes Committed Against SCs		
		Male	Female	Total	Male	Female	Total	Male	Female	Total
1	2	75	76	77	78	79	80	81	82	83
1	Akola	0	0	0.00	4	0	4.00	3	0	3.00
2	Amravati Rural	0	0	0.00	20	0	20.00	15	0	15.00
3	Buldhana	0	0	0.00	4	1	5.00	4	1	5.00
4	Yavatmal	1	0	1.00	21	3	24.00	13	1	14.00
5	Washim	0	0	0.00	14	4	18.00	14	4	18.00
*	**Amaravati Range**	**1**	**0**	**1.00**	**63**	**8**	**71.00**	**49**	**6**	**55.00**
6	Aurangabad Rural	0	0	0.00	10	0	10.00	10	0	10.00
7	Jalna	0	0	0.00	0	0	0.00	0	0	0.00
8	Beed	1	0	1.00	1	0	1.00	1	0	1.00
9	Osmanabad	0	0	0.00	21	2	23.00	18	2	20.00
*	**A'bad Range**	**1**	**0**	**1.00**	**32**	**2**	**34.00**	**29**	**2**	**31.00**
10	Nanded	0	0	0.00	4	0	4.00	4	0	4.00
11	Latur	0	0	0.00	17	0	17.00	17	0	17.00
12	Parbhani	0	0	0.00	56	0	56.00	48	0	48.00
13	Hingoli	0	0	0.00	0	0	0.00	0	0	0.00
*	**Nanded Range**	**0**	**0**	**0.00**	**77**	**0**	**77.00**	**69**	**0**	**69.00**
14	Kolhapur	0	0	0.00	5	0	5.00	5	0	5.00
15	Pune Rural	1	0	1.00	5	0	5.00	2	0	2.00
16	Sangli	2	0	2.00	29	2	31.00	29	2	31.00
17	Satara	0	0	0.00	40	4	44.00	40	4	44.00
18	Solapur Rural	0	0	0.00	15	1	16.00	15	1	16.00
*	**Kolhapur Range**	**3**	**0**	**3.00**	**94**	**7**	**101.00**	**91**	**7**	**98.00**
19	Bhandara	0	0	0.00	1	1	2.00	1	1	2.00
20	Chandrapur	0	0	0.00	11	1	12.00	9	1	10.00
21	Nagpur Rural	0	0	0.00	0	0	0.00	0	0	0.00
22	Wardha	0	0	0.00	10	0	10.00	10	0	10.00
*	**Nagpur Range**	**0**	**0**	**0.00**	**22**	**2**	**24.00**	**20**	**2**	**22.00**
23	Gadchiroli	0	0	0.00	0	0	0.00	0	0	0.00
24	Gondia	0	0	0.00	6	1	7.00	6	1	7.00
*	**Gadchiroli Range**	**0**	**0**	**0.00**	**6**	**1**	**7.00**	**6**	**1**	**7.00**
25	Ahmednagar	0	0	0.00	8	0	8.00	8	0	8.00
26	Dhule	0	0	0.00	25	0	25.00	19	0	19.00
27	Jalgaon	1	0	1.00	25	0	25.00	14	0	14.00
28	Nasik Rural	0	0	0.00	8	0	8.00	4	0	4.00
29	Nandurbar	0	0	0.00	1	0	1.00	0	0	0.00
*	**Nasik Range**	**1**	**0**	**1.00**	**67**	**0**	**67.00**	**45**	**0**	**45.00**
30	Raigad	0	0	0.00	13	2	15.00	5	0	5.00
31	Ratnagiri	0	0	0.00	5	0	5.00	5	0	5.00
32	Sindhudurg	0	0	0.00	6	1	7.00	6	1	7.00
33	Thane Rural	0	0	0.00	1	0	1.00	1	0	1.00
34	Palghar	0	0	0.00	6	2	8.00	2	2	4.00
*	**Thane Range**	**0**	**0**	**0.00**	**31**	**5**	**36.00**	**19**	**3**	**22.00**
35	Mumbai Railway	0	0	0.00	2	0	2.00	2	0	2.00
36	Pune Railway	0	0	0.00	0	0	0.00	0	0	0.00
37	Nagpur Railway	0	0	0.00	1	0	1.00	1	0	1.00
*	**Railways Range**	**0**	**0**	**0.00**	**3**	**0**	**3.00**	**3**	**0**	**3.00**
38	Nagpur Commr.	0	0	0.00	1	0	1.00	1	0	1.00
39	Pune Commr.	1	0	1.00	11	8	19.00	11	8	19.00
40	Thane Commr.	4	2	6.00	17	1	18.00	16	0	16.00
41	Mumbai Commr.	1	0	1.00	1	0	1.00	1	0	1.00
42	Nasik Commr.	4	1	5.00	4	0	4.00	4	0	4.00
43	Aurangabad Commr.	6	0	6.00	4	3	7.00	4	3	7.00
44	Solapur Commr.	0	0	0.00	3	0	3.00	3	0	3.00
45	Navi Mumbai	13	0	13.00	3	2	5.00	3	2	5.00
46	Amravati Commr.	1	0	1.00	5	1	6.00	5	1	6.00
*	**Total of Commrs.**	**30**	**3**	**33**	**49**	**15**	**64**	**48**	**14**	**62**
**	**Total**	**36**	**3**	**39**	**444**	**40**	**484**	**379**	**35**	**414**

तक्ता क्र. ६८ (पुढे चालू)

सन २०१५ मध्ये विशेष व स्थानिक कायदयांर्गत गुन्ह्यांमधील घटक-निहाय अटक आरोपी (लिंग-निहाय व गुन्हे शीर्ष-निहाय)

TABLE NO. 68 (Contd…)

Unit-Wise Persons Arrested Under S.L.L. Crime During 2015 (Gender-Wise And Crimehead- Wise)

Sr. No.	Unit	SC/ST (Prevention Of Atrocities) Act, 1989 For Crimes Committed Against STs			Forest Act, 1927			Prohibition Of Child Marriage Act, 2006		
		Male	Female	Total	Male	Female	Total	Male	Female	Total
1	2	84	85	86	87	88	89	90	91	92
1	Akola	1	0	1.00	0	0	0.00	2	1	3.00
2	Amravati Rural	5	0	5.00	0	0	0.00	0	0	0.00
3	Buldhana	0	0	0.00	7	0	7.00	1	0	1.00
4	Yavatmal	8	2	10.00	0	0	0.00	0	0	0.00
5	Washim	0	0	0.00	0	0	0.00	0	0	0.00
*	**Amaravati Range**	**14**	**2**	**16.00**	**7**	**0**	**7.00**	**3**	**1**	**4.00**
6	Aurangabad Rural	0	0	0.00	0	0	0.00	0	0	0.00
7	Jalna	0	0	0.00	0	0	0.00	0	0	0.00
8	Beed	0	0	0.00	2	0	2.00	14	3	17.00
9	Osmanabad	3	0	3.00	0	0	0.00	0	0	0.00
*	**A'bad Range**	**3**	**0**	**3.00**	**2**	**0**	**2.00**	**14**	**3**	**17.00**
10	Nanded	0	0	0.00	2	0	2.00	0	0	0.00
11	Latur	0	0	0.00	0	0	0.00	0	0	0.00
12	Parbhani	8	0	8.00	0	0	0.00	0	0	0.00
13	Hingoli	0	0	0.00	0	0	0.00	0	0	0.00
*	**Nanded Range**	**8**	**0**	**8.00**	**2**	**0**	**2.00**	**0**	**0**	**0.00**
14	Kolhapur	0	0	0.00	0	0	0.00	3	0	3.00
15	Pune Rural	3	0	3.00	0	0	0.00	9	2	11.00
16	Sangli	0	0	0.00	4	0	4.00	0	0	0.00
17	Satara	0	0	0.00	0	0	0.00	8	1	9.00
18	Solapur Rural	0	0	0.00	0	0	0.00	0	0	0.00
*	**Kolhapur Range**	**3**	**0**	**3.00**	**4**	**0**	**4.00**	**20**	**3**	**23.00**
19	Bhandara	0	0	0.00	0	0	0.00	0	0	0.00
20	Chandrapur	2	0	2.00	0	0	0.00	2	0	2.00
21	Nagpur Rural	0	0	0.00	0	0	0.00	0	0	0.00
22	Wardha	0	0	0.00	0	0	0.00	0	0	0.00
*	**Nagpur Range**	**2**	**0**	**2.00**	**0**	**0**	**0.00**	**2**	**0**	**2.00**
23	Gadchiroli	0	0	0.00	0	0	0.00	0	0	0.00
24	Gondia	0	0	0.00	0	0	0.00	0	0	0.00
*	**Gadchiroli Range**	**0**	**0**	**0.00**	**0**	**0**	**0.00**	**0**	**0**	**0.00**
25	Ahmednagar	0	0	0.00	1	0	1.00	3	2	5.00
26	Dhule	6	0	6.00	0	0	0.00	0	0	0.00
27	Jalgaon	11	0	11.00	1	0	1.00	0	0	0.00
28	Nasik Rural	4	0	4.00	0	0	0.00	0	0	0.00
29	Nandurbar	1	0	1.00	0	0	0.00	0	0	0.00
*	**Nasik Range**	**22**	**0**	**22.00**	**2**	**0**	**2.00**	**3**	**2**	**5.00**
30	Raigad	8	2	10.00	0	0	0.00	0	0	0.00
31	Ratnagiri	0	0	0.00	0	0	0.00	0	0	0.00
32	Sindhudurg	0	0	0.00	0	0	0.00	0	0	0.00
33	Thane Rural	0	0	0.00	0	0	0.00	0	0	0.00
34	Palghar	4	0	4.00	0	0	0.00	0	0	0.00
*	**Thane Range**	**12**	**2**	**14.00**	**0**	**0**	**0.00**	**0**	**0**	**0.00**
35	Mumbai Railway	0	0	0.00	0	0	0.00	0	0	0.00
36	Pune Railway	0	0	0.00	0	0	0.00	0	0	0.00
37	Nagpur Railway	0	0	0.00	0	0	0.00	0	0	0.00
*	**Railways Range**	**0**	**0**	**0.00**	**0**	**0**	**0.00**	**0**	**0**	**0.00**
38	Nagpur Commr.	0	0	0.00	0	0	0.00	1	0	1.00
39	Pune Commr.	0	0	0.00	0	0	0.00	4	2	6.00
40	Thane Commr.	1	1	2.00	0	0	0.00	0	0	0.00
41	Mumbai Commr.	0	0	0.00	2	0	2.00	2	1	3.00
42	Nasik Commr.	0	0	0.00	0	0	0.00	0	0	0.00
43	Aurangabad Commr.	0	0	0.00	0	0	0.00	7	3	10.00
44	Solapur Commr.	0	0	0.00	0	0	0.00	0	0	0.00
45	Navi Mumbai	0	0	0.00	0	0	0.00	3	1	4.00
46	Amravati Commr.	0	0	0.00	0	0	0.00	3	0	3.00
*	**Total of Commrs.**	**1**	**1**	**2**	**2**	**0**	**2**	**20**	**7**	**27**
**	**Total**	**65**	**5**	**70**	**19**	**0**	**19**	**62**	**16**	**78**

तक्ता क्र. ६८ (पुढे चालू)

सन २०१५ मध्ये विशेष व स्थानिक कायदयांर्गत गुन्ह्यांमधील घटक-निहाय अटक आरोपी (लिंग-निहाय व गुन्हे शीर्ष-निहाय)

TABLE NO. 68 (Contd…)

Unit-Wise Persons Arrested Under S.L.L. Crime During 2015 (Gender-Wise And Crimehead- Wise)

Sr. No.	Unit	Protection of Women from Domestic Violence Act			Information Technology Act			Official Secrets Act		
		Male	Female	Total	Male	Female	Total	Male	Female	Total
1	2	93	94	95	96	97	98	99	100	101
1	Akola	0	0	0.00	5	0	5.00	0	0	0.00
2	Amravati Rural	0	0	0.00	7	0	7.00	0	0	0.00
3	Buldhana	0	0	0.00	1	0	1.00	0	0	0.00
4	Yavatmal	3	2	5.00	9	0	9.00	0	0	0.00
5	Washim	0	0	0.00	0	0	0.00	0	0	0.00
*	**Amaravati Range**	**3**	**2**	**5.00**	**22**	**0**	**22.00**	**0**	**0**	**0.00**
6	Aurangabad Rural	0	0	0.00	0	0	0.00	0	0	0.00
7	Jalna	0	0	0.00	8	0	8.00	0	0	0.00
8	Beed	0	0	0.00	0	0	0.00	0	0	0.00
9	Osmanabad	1	0	1.00	0	0	0.00	0	0	0.00
*	**A'bad Range**	**1**	**0**	**1.00**	**8**	**0**	**8.00**	**0**	**0**	**0.00**
10	Nanded	0	0	3ij98f	7	0	7.00	0	0	0.00
11	Latur	0	0	0.00	0	0	0.00	0	0	0.00
12	Parbhani	0	0	0.00	3	0	3.00	0	0	0.00
13	Hingoli	0	0	0.00	0	0	0.00	0	0	0.00
*	**Nanded Range**	**0**	**0**	**0.00**	**10**	**0**	**10.00**	**0**	**0**	**0.00**
14	Kolhapur	0	0	0.00	0	0	0.00	0	0	0.00
15	Pune Rural	0	0	0.00	1	0	1.00	0	0	0.00
16	Sangli	0	0	0.00	1	0	1.00	0	0	0.00
17	Satara	0	0	0.00	2	0	2.00	0	0	0.00
18	Solapur Rural	0	0	0.00	4	0	4.00	0	0	0.00
*	**Kolhapur Range**	**0**	**0**	**0.00**	**8**	**0**	**8.00**	**0**	**0**	**0.00**
19	Bhandara	0	0	0.00	5	0	5.00	0	0	0.00
20	Chandrapur	0	0	0.00	5	0	5.00	0	0	0.00
21	Nagpur Rural	0	0	0.00	0	0	0.00	0	0	0.00
22	Wardha	0	0	0.00	0	0	0.00	0	0	0.00
*	**Nagpur Range**	**0**	**0**	**0.00**	**10**	**0**	**10.00**	**0**	**0**	**0.00**
23	Gadchiroli	0	0	0.00	0	0	0.00	0	0	0.00
24	Gondia	0	0	0.00	1	0	1.00	0	0	0.00
*	**Gadchiroli Range**	**0**	**0**	**0.00**	**1**	**0**	**1.00**	**0**	**0**	**0.00**
25	Ahmednagar	0	0	0.00	7	0	7.00	0	0	0.00
26	Dhule	0	0	0.00	0	0	0.00	0	0	0.00
27	Jalgaon	0	0	0.00	14	0	14.00	0	0	0.00
28	Nasik Rural	0	0	0.00	3	0	3.00	0	0	0.00
29	Nandurbar	0	0	0.00	0	0	0.00	0	0	0.00
*	**Nasik Range**	**0**	**0**	**0.00**	**24**	**0**	**24.00**	**0**	**0**	**0.00**
30	Raigad	0	0	0.00	0	0	0.00	0	0	0.00
31	Ratnagiri	0	0	0.00	1	0	1.00	0	0	0.00
32	Sindhudurg	0	0	0.00	0	0	0.00	0	0	0.00
33	Thane Rural	0	0	0.00	1	0	1.00	0	0	0.00
34	Palghar	3	0	3.00	4	0	4.00	0	0	0.00
*	**Thane Range**	**3**	**0**	**3.00**	**6**	**0**	**6.00**	**0**	**0**	**0.00**
35	Mumbai Railway	0	0	0.00	0	0	0.00	0	0	0.00
36	Pune Railway	0	0	0.00	0	0	0.00	0	0	0.00
37	Nagpur Railway	0	0	0.00	0	0	0.00	0	0	0.00
*	**Railways Range**	**0**	**0**	**0.00**	**0**	**0**	**0.00**	**0**	**0**	**0.00**
38	Nagpur Commr.	0	0	0.00	5	0	5.00	0	0	0.00
39	Pune Commr.	0	0	0.00	1	0	1.00	0	0	0.00
40	Thane Commr.	0	0	0.00	82	1	83.00	0	0	0.00
41	Mumbai Commr.	15	0	15.00	5	0	5.00	0	0	0.00
42	Nasik Commr.	0	0	0.00	5	1	6.00	0	0	0.00
43	Aurangabad Commr.	0	0	0.00	14	0	14.00	0	0	0.00
44	Solapur Commr.	0	0	0.00	19	0	19.00	0	0	0.00
45	Navi Mumbai	0	0	0.00	7	2	9.00	0	0	0.00
46	Amravati Commr.	0	0	0.00	5	0	5.00	0	0	0.00
*	**Total of Commrs.**	**15**	**0**	**15**	**143**	**4**	**147**	**0**	**0**	**0**
**	**Total**	**22**	**2**	**24**	**232**	**4**	**236**	**0**	**0**	**0**

तक्ता क्र. ६८ (पुढे चालू)

सन २०१५ मध्ये विशेष व स्थानिक कायदयांर्गत गुन्ह्यांमधील घटक-निहाय अटक आरोपी (लिंग-निहाय व गुन्हे शीर्ष-निहाय)

TABLE NO. 68 (Contd…)

Unit-Wise Persons Arrested Under S.L.L. Crime During 2015 (Gender-Wise And Crimehead- Wise)

Sr. No.	Unit	Electricity Act, 2003			Wildlife Protection Act, 1972			Bonded Labour System (Abolition) Act, 1976		
								Bonded Labour System (Abolition) Act, 1976 (Total)		
		Male	Female	Total	Male	Female	Total	Male	Female	Total
1	2	102	103	104	105	106	107	108	109	110
1	Akola	77	0	77.00	0	0	0.00	0	0	0.00
2	Amravati Rural	3	0	3.00	0	0	0.00	0	0	0.00
3	Buldhana	11	0	11.00	0	0	0.00	0	0	0.00
4	Yavatmal	44	0	44.00	0	0	0.00	1	0	1.00
5	Washim	1	0	1.00	0	0	0.00	0	0	0.00
*	**Amaravati Range**	**136**	**0**	**136.00**	**0**	**0**	**0.00**	**1**	**0**	**1.00**
6	Aurangabad Rural	0	0	0.00	0	0	0.00	0	0	0.00
7	Jalna	1	0	1.00	0	0	0.00	0	0	0.00
8	Beed	0	0	0.00	0	0	0.00	0	0	0.00
9	Osmanabad	1	0	1.00	0	0	0.00	0	0	0.00
*	**A'bad Range**	**2**	**0**	**2.00**	**0**	**0**	**0.00**	**0**	**0**	**0.00**
10	Nanded	13	0	13.00	3	0	3.00	0	0	0.00
11	Latur	13	0	13.00	0	0	0.00	0	0	0.00
12	Parbhani	0	0	0.00	0	0	0.00	0	0	0.00
13	Hingoli	0	0	0.00	0	0	0.00	0	0	0.00
*	**Nanded Range**	**26**	**0**	**26.00**	**3**	**0**	**3.00**	**0**	**0**	**0.00**
14	Kolhapur	0	0	0.00	0	0	0.00	0	0	0.00
15	Pune Rural	16	0	16.00	2	0	2.00	0	0	0.00
16	Sangli	5	0	5.00	17	0	17.00	0	0	0.00
17	Satara	26	0	26.00	2	0	2.00	0	0	0.00
18	Solapur Rural	27	0	27.00	0	0	0.00	0	0	0.00
*	**Kolhapur Range**	**74**	**0**	**74.00**	**21**	**0**	**21.00**	**0**	**0**	**0.00**
19	Bhandara	6	0	6.00	0	0	0.00	0	0	0.00
20	Chandrapur	11	0	11.00	0	0	0.00	0	0	0.00
21	Nagpur Rural	1	0	1.00	0	0	0.00	0	0	0.00
22	Wardha	0	0	0.00	0	0	0.00	0	0	0.00
*	**Nagpur Range**	**18**	**0**	**18.00**	**0**	**0**	**0.00**	**0**	**0**	**0.00**
23	Gadchiroli	0	0	0.00	0	0	0.00	0	0	0.00
24	Gondia	0	0	0.00	0	0	0.00	0	0	0.00
*	**Gadchiroli Range**	**0**	**0**	**0.00**	**0**	**0**	**0.00**	**0**	**0**	**0.00**
25	Ahmednagar	4	0	4.00	0	0	0.00	0	0	0.00
26	Dhule	0	0	0.00	0	0	0.00	0	0	0.00
27	Jalgaon	29	0	29.00	0	0	0.00	0	0	0.00
28	Nasik Rural	0	0	0.00	5	0	5.00	0	0	0.00
29	Nandurbar	6	0	6.00	0	0	0.00	0	0	0.00
*	**Nasik Range**	**39**	**0**	**39.00**	**5**	**0**	**5.00**	**0**	**0**	**0.00**
30	Raigad	1	0	1.00	4	0	4.00	0	0	0.00
31	Ratnagiri	0	0	0.00	0	0	0.00	0	0	0.00
32	Sindhudurg	0	0	0.00	0	0	0.00	0	0	0.00
33	Thane Rural	0	0	0.00	0	0	0.00	0	0	0.00
34	Palghar	0	0	0.00	0	0	0.00	0	0	0.00
*	**Thane Range**	**1**	**0**	**1.00**	**4**	**0**	**4.00**	**0**	**0**	**0.00**
35	Mumbai Railway	0	0	0.00	0	0	0.00	0	0	0.00
36	Pune Railway	0	0	0.00	0	0	0.00	0	0	0.00
37	Nagpur Railway	0	0	0.00	0	0	0.00	0	0	0.00
*	**Railways Range**	**0**	**0**	**0.00**	**0**	**0**	**0.00**	**0**	**0**	**0.00**
38	Nagpur Commr.	0	0	0.00	0	0	0.00	0	0	0.00
39	Pune Commr.	1	0	1.00	23	0	23.00	0	0	0.00
40	Thane Commr.	0	0	0.00	5	0	5.00	3	0	3.00
41	Mumbai Commr.	375	24	399.00	4	0	4.00	0	0	0.00
42	Nasik Commr.	0	0	0.00	0	0	0.00	0	0	0.00
43	Aurangabad Commr.	0	0	0.00	0	0	0.00	0	0	0.00
44	Solapur Commr.	5	0	5.00	0	0	0.00	0	0	0.00
45	Navi Mumbai	0	0	0.00	0	0	0.00	0	0	0.00
46	Amravati Commr.	16	2	18.00	0	0	0.00	0	0	0.00
*	**Total of Commrs.**	**397**	**26**	**423**	**32**	**0**	**32**	**3**	**0**	**3**
**	**Total**	**693**	**26**	**719**	**65**	**0**	**65**	**4**	**0**	**4**

तक्ता क्र. ६८ (पुढे चालू)

सन २०१५ मध्ये विशेष व स्थानिक कायदयांर्गत गुन्ह्यांमधील घटक-निहाय अटक आरोपी (लिंग-निहाय व गुन्हे शीर्ष-निहाय)

TABLE NO. 68 (Contd…)

Unit-Wise Persons Arrested Under S.L.L. Crime During 2015 (Gender-Wise And Crimehead- Wise)

Sr. No.	Unit	Bonded Labour System (Abolition) Act, 1976						Bonded Labour System (Abolition) Act, 1976		
		Against SC			Against ST			Against Others		
		Male	Female	Total	Male	Female	Total	Male	Female	Total
1	2	111	112	113	114	115	116	117	118	119
1	Akola	0	0	0.00	0	0	0.00	0	0	0.00
2	Amravati Rural	0	0	0.00	0	0	0.00	0	0	0.00
3	Buldhana	0	0	0.00	0	0	0.00	0	0	0.00
4	Yavatmal	0	0	0.00	0	0	0.00	1	0	1.00
5	Washim	0	0	0.00	0	0	0.00	0	0	0.00
*	**Amaravati Range**	**0**	**0**	**0.00**	**0**	**0**	**0.00**	**1**	**0**	**1.00**
6	Aurangabad Rural	0	0	0.00	0	0	0.00	0	0	0.00
7	Jalna	0	0	0.00	0	0	0.00	0	0	0.00
8	Beed	0	0	0.00	0	0	0.00	0	0	0.00
9	Osmanabad	0	0	0.00	0	0	0.00	0	0	0.00
*	**A'bad Range**	**0**	**0**	**0.00**	**0**	**0**	**0.00**	**0**	**0**	**0.00**
10	Nanded	0	0	0.00	0	0	0.00	0	0	0.00
11	Latur	0	0	0.00	0	0	0.00	0	0	0.00
12	Parbhani	0	0	0.00	0	0	0.00	0	0	0.00
13	Hingoli	0	0	0.00	0	0	0.00	0	0	0.00
*	**Nanded Range**	**0**	**0**	**0.00**	**0**	**0**	**0.00**	**0**	**0**	**0.00**
14	Kolhapur	0	0	0.00	0	0	0.00	0	0	0.00
15	Pune Rural	0	0	0.00	0	0	0.00	0	0	0.00
16	Sangli	0	0	0.00	0	0	0.00	0	0	0.00
17	Satara	0	0	0.00	0	0	0.00	0	0	0.00
18	Solapur Rural	0	0	0.00	0	0	0.00	0	0	0.00
*	**Kolhapur Range**	**0**	**0**	**0.00**	**0**	**0**	**0.00**	**0**	**0**	**0.00**
19	Bhandara	0	0	0.00	0	0	0.00	0	0	0.00
20	Chandrapur	0	0	0.00	0	0	0.00	0	0	0.00
21	Nagpur Rural	0	0	0.00	0	0	0.00	0	0	0.00
22	Wardha	0	0	0.00	0	0	0.00	0	0	0.00
*	**Nagpur Range**	**0**	**0**	**0.00**	**0**	**0**	**0.00**	**0**	**0**	**0.00**
23	Gadchiroli	0	0	0.00	0	0	0.00	0	0	0.00
24	Gondia	0	0	0.00	0	0	0.00	0	0	0.00
*	**Gadchiroli Range**	**0**	**0**	**0.00**	**0**	**0**	**0.00**	**0**	**0**	**0.00**
25	Ahmednagar	0	0	0.00	0	0	0.00	0	0	0.00
26	Dhule	0	0	0.00	0	0	0.00	0	0	0.00
27	Jalgaon	0	0	0.00	0	0	0.00	0	0	0.00
28	Nasik Rural	0	0	0.00	0	0	0.00	0	0	0.00
29	Nandurbar	0	0	0.00	0	0	0.00	0	0	0.00
*	**Nasik Range**	**0**	**0**	**0.00**	**0**	**0**	**0.00**	**0**	**0**	**0.00**
30	Raigad	0	0	0.00	0	0	0.00	0	0	0.00
31	Ratnagiri	0	0	0.00	0	0	0.00	0	0	0.00
32	Sindhudurg	0	0	0.00	0	0	0.00	0	0	0.00
33	Thane Rural	0	0	0.00	0	0	0.00	0	0	0.00
34	Palghar	0	0	0.00	0	0	0.00	0	0	0.00
*	**Thane Range**	**0**	**0**	**0.00**	**0**	**0**	**0.00**	**0**	**0**	**0.00**
35	Mumbai Railway	0	0	0.00	0	0	0.00	0	0	0.00
36	Pune Railway	0	0	0.00	0	0	0.00	0	0	0.00
37	Nagpur Railway	0	0	0.00	0	0	0.00	0	0	0.00
*	**Railways Range**	0	0	0.00	0	0	0.00	0	0	0.00
38	Nagpur Commr.	0	0	0.00	0	0	0.00	0	0	0.00
39	Pune Commr.	0	0	0.00	0	0	0.00	0	0	0.00
40	Thane Commr.	0	0	0.00	0	0	0.00	3	0	3.00
41	Mumbai Commr.	0	0	0.00	0	0	0.00	0	0	0.00
42	Nasik Commr.	0	0	0.00	0	0	0.00	0	0	0.00
43	Aurangabad Commr.	0	0	0.00	0	0	0.00	0	0	0.00
44	Solapur Commr.	0	0	0.00	0	0	0.00	0	0	0.00
45	Navi Mumbai	0	0	0.00	0	0	0.00	0	0	0.00
46	Amravati Commr.	0	0	0.00	0	0	0.00	0	0	0.00
*	**Total of Commrs.**	**0**	**0**	**0**	**0**	**0**	**0**	**3**	**0**	**3**
**	**Total**	**0**	**0**	**0**	**0**	**0**	**0**	**4**	**0**	**4**

तक्ता क्र. ६८ (पुढे चालू)

सन २०१५ मध्ये विशेष व स्थानिक कायदयांर्गत गुन्ह्यांमधील घटक-निहाय अटक आरोपी (लिंग-निहाय व गुन्हे शीर्ष-निहाय)

TABLE NO. 68 (Contd…)

Unit-Wise Persons Arrested Under S.L.L. Crime During 2015 (Gender-Wise And Crimehead- Wise)

Sr. No.	Unit	Environmental Protection Act, 1986			Air (Prevention & Control Of Pollution) Act, 1981			Water (Prevention & Control of Pollution) Act		
		Male	Female	Total	Male	Female	Total	Male	Female	Total
1	2	120	121	122	123	124	125	126	127	128
1	Akola	0	0	0.00	0	0	0.00	0	0	0.00
2	Amravati Rural	0	0	0.00	0	0	0.00	0	0	0.00
3	Buldhana	0	0	0.00	0	0	0.00	0	0	0.00
4	Yavatmal	0	0	0.00	0	0	0.00	0	0	0.00
5	Washim	0	0	0.00	0	0	0.00	0	0	0.00
*	**Amaravati Range**	**0**	**0**	**0.00**	**0**	**0**	**0.00**	**0**	**0**	**0.00**
6	Aurangabad Rural	0	0	0.00	0	0	0.00	0	0	0.00
7	Jalna	0	0	0.00	0	0	0.00	0	0	0.00
8	Beed	0	0	0.00	0	0	0.00	0	0	0.00
9	Osmanabad	0	0	0.00	0	0	0.00	0	0	0.00
*	**A'bad Range**	**0**	**0**	**0.00**	**0**	**0**	**0.00**	**0**	**0**	**0.00**
10	Nanded	0	0	0.00	0	0	0.00	0	0	0.00
11	Latur	0	0	0.00	0	0	0.00	0	0	0.00
12	Parbhani	0	0	0.00	0	0	0.00	0	0	0.00
13	Hingoli	31	0	31.00	0	0	0.00	0	0	0.00
*	**Nanded Range**	**31**	**0**	**31.00**	**0**	**0**	**0.00**	**0**	**0**	**0.00**
14	Kolhapur	6	0	6.00	0	0	0.00	0	0	0.00
15	Pune Rural	0	0	0.00	0	0	0.00	0	0	0.00
16	Sangli	0	0	0.00	0	0	0.00	0	0	0.00
17	Satara	0	0	0.00	0	0	0.00	0	0	0.00
18	Solapur Rural	0	0	0.00	0	0	0.00	0	0	0.00
*	**Kolhapur Range**	**6**	**0**	**6.00**	**0**	**0**	**0.00**	**0**	**0**	**0.00**
19	Bhandara	0	0	0.00	0	0	0.00	0	0	0.00
20	Chandrapur	0	0	0.00	0	0	0.00	0	0	0.00
21	Nagpur Rural	0	0	0.00	0	0	0.00	0	0	0.00
22	Wardha	0	0	0.00	0	0	0.00	0	0	0.00
*	**Nagpur Range**	**0**	**0**	**0.00**	**0**	**0**	**0.00**	**0**	**0**	**0.00**
23	Gadchiroli	0	0	0.00	0	0	0.00	0	0	0.00
24	Gondia	0	0	0.00	0	0	0.00	0	0	0.00
*	**Gadchiroli Range**	**0**	**0**	**0.00**	**0**	**0**	**0.00**	**0**	**0**	**0.00**
25	Ahmednagar	0	0	0.00	72	0	72.00	0	0	0.00
26	Dhule	0	0	0.00	0	0	0.00	0	0	0.00
27	Jalgaon	0	0	0.00	2	0	2.00	0	0	0.00
28	Nasik Rural	0	0	0.00	0	0	0.00	0	0	0.00
29	Nandurbar	0	0	0.00	0	0	0.00	0	0	0.00
*	**Nasik Range**	**0**	**0**	**0.00**	**74**	**0**	**74.00**	**0**	**0**	**0.00**
30	Raigad	3	0	3.00	0	0	0.00	1	0	1.00
31	Ratnagiri	0	0	0.00	0	0	0.00	0	0	0.00
32	Sindhudurg	0	0	0.00	0	0	0.00	0	0	0.00
33	Thane Rural	0	0	0.00	0	0	0.00	0	0	0.00
34	Palghar	0	0	0.00	0	0	0.00	0	0	0.00
*	**Thane Range**	**3**	**0**	**3.00**	**0**	**0**	**0.00**	**1**	**0**	**1.00**
35	Mumbai Railway	0	0	0.00	0	0	0.00	0	0	0.00
36	Pune Railway	0	0	0.00	0	0	0.00	0	0	0.00
37	Nagpur Railway	0	0	0.00	0	0	0.00	0	0	0.00
*	**Railways Range**	**0**	**0**	**0.00**	**0**	**0**	**0.00**	**0**	**0**	**0.00**
38	Nagpur Commr.	0	0	0.00	0	0	0.00	0	0	0.00
39	Pune Commr.	0	0	0.00	0	0	0.00	0	0	0.00
40	Thane Commr.	24	0	24.00	0	0	0.00	0	0	0.00
41	Mumbai Commr.	12	0	12.00	0	0	0.00	0	0	0.00
42	Nasik Commr.	0	0	0.00	0	0	0.00	0	0	0.00
43	Aurangabad Commr.	0	0	0.00	0	0	0.00	0	0	0.00
44	Solapur Commr.	0	0	0.00	0	0	0.00	0	0	0.00
45	Navi Mumbai	3	0	3.00	0	0	0.00	0	0	0.00
46	Amravati Commr.	0	0	0.00	6	0	6.00	0	0	0.00
*	**Total of Commrs.**	**39**	**0**	**39**	**6**	**0**	**6**	**0**	**0**	**0**
**	**Total**	**79**	**0**	**79**	**80**	**0**	**80**	**1**	**0**	**1**

तक्ता क्र. ६८ (पुढे चालू)

सन २०१५ मध्ये विशेष व स्थानिक कायदयांर्गत गुन्ह्यांमधील घटक-निहाय अटक आरोपी (लिंग-निहाय व गुन्हे शीर्ष-निहाय)

TABLE NO. 68 (Contd…)

Unit-Wise Persons Arrested Under S.L.L. Crime During 2015 (Gender-Wise And Crimehead- Wise)

Sr. No.	Unit	National Security Act, 1980			Unlawful Activities (Prevention) Act, 1967			Young Persons (Harmful Publications) Act, 1956		
		Male	Female	Total	Male	Female	Total	Male	Female	Total
1	2	129	130	131	132	133	134	135	136	137
1	Akola	0	0	0.00	0	0	0.00	0	0	0.00
2	Amravati Rural	0	0	0.00	0	0	0.00	0	0	0.00
3	Buldhana	0	0	0.00	0	0	0.00	0	0	0.00
4	Yavatmal	0	0	0.00	0	0	0.00	0	0	0.00
5	Washim	0	0	0.00	0	0	0.00	0	0	0.00
*	**Amaravati Range**	**0**	**0**	**0.00**	**0**	**0**	**0.00**	**0**	**0**	**0.00**
6	Aurangabad Rural	0	0	0.00	0	0	0.00	0	0	0.00
7	Jalna	0	0	0.00	0	0	0.00	0	0	0.00
8	Beed	0	0	0.00	0	0	0.00	0	0	0.00
9	Osmanabad	0	0	0.00	0	0	0.00	0	0	0.00
*	**A'bad Range**	**0**	**0**	**0.00**	**0**	**0**	**0.00**	**0**	**0**	**0.00**
10	Nanded	0	0	0.00	0	0	0.00	0	0	0.00
11	Latur	0	0	0.00	0	0	0.00	0	0	0.00
12	Parbhani	0	0	0.00	0	0	0.00	0	0	0.00
13	Hingoli	0	0	0.00	0	0	0.00	0	0	0.00
*	**Nanded Range**	**0**	**0**	**0.00**	**0**	**0**	**0.00**	**0**	**0**	**0.00**
14	Kolhapur	0	0	0.00	0	0	0.00	0	0	0.00
15	Pune Rural	0	0	0.00	0	0	0.00	0	0	0.00
16	Sangli	0	0	0.00	0	0	0.00	0	0	0.00
17	Satara	0	0	0.00	0	0	0.00	0	0	0.00
18	Solapur Rural	0	0	0.00	0	0	0.00	0	0	0.00
*	**Kolhapur Range**	**0**	**0**	**0.00**	**0**	**0**	**0.00**	**0**	**0**	**0.00**
19	Bhandara	0	0	0.00	0	0	0.00	0	0	0.00
20	Chandrapur	0	0	0.00	0	0	0.00	0	0	0.00
21	Nagpur Rural	0	0	0.00	0	0	0.00	0	0	0.00
22	Wardha	0	0	0.00	0	0	0.00	0	0	0.00
*	**Nagpur Range**	**0**	**0**	**0.00**	**0**	**0**	**0.00**	**0**	**0**	**0.00**
23	Gadchiroli	0	0	0.00	0	0	0.00	0	0	0.00
24	Gondia	0	0	0.00	0	0	0.00	0	0	0.00
*	**Gadchiroli Range**	**0**	**0**	**0.00**	**0**	**0**	**0.00**	**0**	**0**	**0.00**
25	Ahmednagar	0	0	0.00	0	0	0.00	0	0	0.00
26	Dhule	0	0	0.00	0	0	0.00	0	0	0.00
27	Jalgaon	0	0	0.00	0	0	0.00	0	0	0.00
28	Nasik Rural	0	0	0.00	0	0	0.00	0	0	0.00
29	Nandurbar	0	0	0.00	0	0	0.00	0	0	0.00
*	**Nasik Range**	**0**	**0**	**0.00**	**0**	**0**	**0.00**	**0**	**0**	**0.00**
30	Raigad	0	0	0.00	0	0	0.00	0	0	0.00
31	Ratnagiri	0	0	0.00	0	0	0.00	0	0	0.00
32	Sindhudurg	0	0	0.00	0	0	0.00	0	0	0.00
33	Thane Rural	0	0	0.00	0	0	0.00	0	0	0.00
34	Palghar	0	0	0.00	0	0	0.00	0	0	0.00
*	**Thane Range**	**0**	**0**	**0.00**	**0**	**0**	**0.00**	**0**	**0**	**0.00**
35	Mumbai Railway	0	0	0.00	0	0	0.00	0	0	0.00
36	Pune Railway	0	0	0.00	0	0	0.00	0	0	0.00
37	Nagpur Railway	0	0	0.00	0	0	0.00	0	0	0.00
*	**Railways Range**	**0**	**0**	**0.00**	**0**	**0**	**0.00**	**0**	**0**	**0.00**
38	Nagpur Commr.	0	0	0.00	0	0	0.00	0	0	0.00
39	Pune Commr.	0	0	0.00	0	0	0.00	0	0	0.00
40	Thane Commr.	0	0	0.00	0	0	0.00	0	0	0.00
41	Mumbai Commr.	1	0	1.00	0	0	0.00	0	0	0.00
42	Nasik Commr.	0	0	0.00	0	0	0.00	0	0	0.00
43	Aurangabad Commr.	0	0	0.00	0	0	0.00	0	0	0.00
44	Solapur Commr.	0	0	0.00	0	0	0.00	0	0	0.00
45	Navi Mumbai	0	0	0.00	0	0	0.00	0	0	0.00
46	Amravati Commr.	0	0	0.00	0	0	0.00	0	0	0.00
*	**Total of Commrs.**	**1**	**0**	**1**	**0**	**0**	**0**	**0**	**0**	**0**
**	**Total**	**1**	**0**	**1**	**0**	**0**	**0**	**0**	**0**	**0**

तक्ता क्र. ६८ (पुढे चालू)

सन २०१५ मध्ये विशेष व स्थानिक कायदयांर्गत गुन्ह्यांमधील घटक-निहाय अटक आरोपी (लिंग-निहाय व गुन्हे शीर्ष-निहाय)

TABLE NO. 68 (Contd…)

Unit-Wise Persons Arrested Under S.L.L. Crime During 2015 (Gender-Wise And Crimehead- Wise)

Sr. No.	Unit	Railway Property (Unlawful Possession) Act, 1966			Prevention Of Damage To Public Property Act, 1984			Transplantation Of Human Organs Act, 1994		
		Male	Female	Total	Male	Female	Total	Male	Female	Total
1	2	138	139	140	141	142	143	144	145	146
1	Akola	0	0	0.00	6	0	6.00	0	0	0.00
2	Amravati Rural	0	0	0.00	0	0	0.00	0	0	0.00
3	Buldhana	0	0	0.00	0	0	0.00	0	0	0.00
4	Yavatmal	0	0	0.00	6	0	6.00	0	0	0.00
5	Washim	0	0	0.00	0	0	0.00	0	0	0.00
*	**Amaravati Range**	**0**	**0**	**0.00**	**12**	**0**	**12.00**	**0**	**0**	**0.00**
6	Aurangabad Rural	0	0	0.00	0	0	0.00	0	0	0.00
7	Jalna	0	0	0.00	0	0	0.00	0	0	0.00
8	Beed	0	0	0.00	7	0	7.00	0	0	0.00
9	Osmanabad	0	0	0.00	3	0	3.00	0	0	0.00
*	**A'bad Range**	**0**	**0**	**0.00**	**10**	**0**	**10.00**	**0**	**0**	**0.00**
10	Nanded	0	0	0.00	20	0	20.00	0	0	0.00
11	Latur	0	0	0.00	0	0	0.00	0	0	0.00
12	Parbhani	0	0	0.00	0	0	0.00	0	0	0.00
13	Hingoli	0	0	0.00	0	0	0.00	0	0	0.00
*	**Nanded Range**	**0**	**0**	**0.00**	**20**	**0**	**20.00**	**0**	**0**	**0.00**
14	Kolhapur	0	0	0.00	0	0	0.00	0	0	0.00
15	Pune Rural	0	0	0.00	11	0	11.00	0	0	0.00
16	Sangli	0	0	0.00	10	0	10.00	0	0	0.00
17	Satara	0	0	0.00	5	0	5.00	0	0	0.00
18	Solapur Rural	0	0	0.00	0	0	0.00	0	0	0.00
*	**Kolhapur Range**	**0**	**0**	**0.00**	**26**	**0**	**26.00**	**0**	**0**	**0.00**
19	Bhandara	0	0	0.00	0	0	0.00	0	0	0.00
20	Chandrapur	0	0	0.00	5	0	5.00	0	0	0.00
21	Nagpur Rural	0	0	0.00	2	0	2.00	0	0	0.00
22	Wardha	0	0	0.00	0	0	0.00	0	0	0.00
*	Nagpur Range	0	0	0.00	7	0	7.00	0	0	0.00
23	Gadchiroli	0	0	0.00	0	0	0.00	0	0	0.00
24	Gondia	0	0	0.00	0	0	0.00	0	0	0.00
*	**Gadchiroli Range**	**0**	**0**	**0.00**	**0**	**0**	**0.00**	**0**	**0**	**0.00**
25	Ahmednagar	0	0	0.00	0	0	0.00	0	0	0.00
26	Dhule	0	0	0.00	0	0	0.00	0	0	0.00
27	Jalgaon	0	0	0.00	3	0	3.00	0	0	0.00
28	Nasik Rural	0	0	0.00	0	0	0.00	0	0	0.00
29	Nandurbar	0	0	0.00	1	0	1.00	0	0	0.00
*	**Nasik Range**	**0**	**0**	**0.00**	**4**	**0**	**4.00**	**0**	**0**	**0.00**
30	Raigad	0	0	0.00	1	0	1.00	0	0	0.00
31	Ratnagiri	0	0	0.00	0	0	0.00	0	0	0.00
32	Sindhudurg	0	0	0.00	0	0	0.00	0	0	0.00
33	Thane Rural	0	0	0.00	0	0	0.00	0	0	0.00
34	Palghar	0	0	0.00	0	0	0.00	0	0	0.00
*	**Thane Range**	**0**	**0**	**0.00**	**1**	**0**	**1.00**	**0**	**0**	**0.00**
35	Mumbai Railway	0	0	0.00	0	0	0.00	0	0	0.00
36	Pune Railway	0	0	0.00	0	0	0.00	0	0	0.00
37	Nagpur Railway	0	0	0.00	0	0	0.00	0	0	0.00
*	**Railways Range**	**0**	**0**	**0.00**	**0**	**0**	**0.00**	**0**	**0**	**0.00**
38	Nagpur Commr.	0	0	0.00	3	0	3.00	0	0	0.00
39	Pune Commr.	0	0	0.00	36	0	36.00	0	0	0.00
40	Thane Commr.	0	0	0.00	12	1	13.00	0	0	0.00
41	Mumbai Commr.	0	0	0.00	8	0	8.00	0	0	0.00
42	Nasik Commr.	0	0	0.00	21	1	22.00	0	0	0.00
43	Aurangabad Commr.	0	0	0.00	1	0	1.00	0	0	0.00
44	Solapur Commr.	0	0	0.00	0	0	0.00	0	0	0.00
45	Navi Mumbai	0	0	0.00	0	0	0.00	0	0	0.00
46	Amravati Commr.	0	0	0.00	16	0	16.00	0	0	0.00
*	**Total of Commrs.**	**0**	**0**	**0**	**97**	**2**	**99**	**0**	**0**	**0**
**	**Total**	**0**	**0**	**0**	**177**	**2**	**179**	**0**	**0**	**0**

तक्ता क्र. ६८ (पुढे चालू)

सन २०१५ मध्ये विशेष व स्थानिक कायदयांर्गत गुन्ह्यांमधील घटक-निहाय अटक आरोपी (लिंग-निहाय व गुन्हे शीर्ष-निहाय)

TABLE NO. 68 (Contd…)

Unit-Wise Persons Arrested Under S.L.L. Crime During 2015 (Gender-Wise And Crimehead- Wise)

Sr. No.	Unit	Trade Marks Act, 1999			Prevention Of Insults To National Honour Act, 1971			State Emblem Of India (Prohibition Of Improper Use) Act, 2005		
		Male	Female	Total	Male	Female	Total	Male	Female	Total
1	2	147	148	149	150	151	152	153	154	155
1	Akola	0	0	0.00	0	0	0.00	0	0	0.00
2	Amravati Rural	0	0	0.00	0	0	0.00	0	0	0.00
3	Buldhana	4	0	4.00	0	0	0.00	0	0	0.00
4	Yavatmal	0	0	0.00	0	0	0.00	0	0	0.00
5	Washim	0	0	0.00	1	0	1.00	0	0	0.00
*	**Amaravati Range**	**4**	**0**	**4.00**	**1**	**0**	**1.00**	**0**	**0**	**0.00**
6	Aurangabad Rural	0	0	0.00	0	0	0.00	0	0	0.00
7	Jalna	0	0	0.00	0	0	0.00	0	0	0.00
8	Beed	0	0	0.00	0	0	0.00	0	0	0.00
9	Osmanabad	0	0	0.00	2	0	2.00	0	0	0.00
*	**A'bad Range**	**0**	**0**	**0.00**	**2**	**0**	**2.00**	**0**	**0**	**0.00**
10	Nanded	0	0	0.00	0	0	0.00	0	0	0.00
11	Latur	0	0	0.00	0	0	0.00	0	0	0.00
12	Parbhani	0	0	0.00	0	0	0.00	0	0	0.00
13	Hingoli	0	0	0.00	0	0	0.00	0	0	0.00
*	**Nanded Range**	**0**	**0**	**0.00**	**0**	**0**	**0.00**	**0**	**0**	**0.00**
14	Kolhapur	0	0	0.00	0	0	0.00	0	0	0.00
15	Pune Rural	0	0	0.00	0	0	0.00	0	0	0.00
16	Sangli	0	0	0.00	0	0	0.00	0	0	0.00
17	Satara	0	0	0.00	4	0	4.00	0	0	0.00
18	Solapur Rural	0	0	0.00	0	0	0.00	0	0	0.00
*	**Kolhapur Range**	**0**	**0**	**0.00**	**4**	**0**	**4.00**	**0**	**0**	**0.00**
19	Bhandara	0	0	0.00	1	1	2.00	0	0	0.00
20	Chandrapur	0	0	0.00	0	0	0.00	0	0	0.00
21	Nagpur Rural	0	0	0.00	0	0	0.00	0	0	0.00
22	Wardha	0	0	0.00	0	0	0.00	0	0	0.00
*	**Nagpur Range**	**0**	**0**	**0.00**	**1**	**1**	**2.00**	**0**	**0**	**0.00**
23	Gadchiroli	0	0	0.00	0	0	0.00	0	0	0.00
24	Gondia	0	0	0.00	0	0	0.00	0	0	0.00
*	**Gadchiroli Range**	**0**	**0**	**0.00**	**0**	**0**	**0.00**	**0**	**0**	**0.00**
25	Ahmednagar	0	0	0.00	0	0	0.00	0	0	0.00
26	Dhule	0	0	0.00	0	0	0.00	0	0	0.00
27	Jalgaon	0	0	0.00	0	0	0.00	0	0	0.00
28	Nasik Rural	0	0	0.00	0	0	0.00	0	0	0.00
29	Nandurbar	0	0	0.00	0	0	0.00	0	0	0.00
*	**Nasik Range**	**0**	**0**	**0.00**	**0**	**0**	**0.00**	**0**	**0**	**0.00**
30	Raigad	0	0	0.00	3	0	3.00	0	0	0.00
31	Ratnagiri	0	0	0.00	0	0	0.00	0	0	0.00
32	Sindhudurg	0	0	0.00	0	0	0.00	0	0	0.00
33	Thane Rural	0	0	0.00	0	0	0.00	0	0	0.00
34	Palghar	0	0	0.00	0	0	0.00	0	0	0.00
*	**Thane Range**	**0**	**0**	**0.00**	**3**	**0**	**3.00**	**0**	**0**	**0.00**
35	Mumbai Railway	0	0	0.00	0	0	0.00	0	0	0.00
36	Pune Railway	0	0	0.00	0	0	0.00	0	0	0.00
37	Nagpur Railway	0	0	0.00	0	0	0.00	0	0	0.00
*	**Railways Range**	**0**	**0**	**0.00**	**0**	**0**	**0.00**	**0**	**0**	**0.00**
38	Nagpur Commr.	0	0	0.00	0	0	0.00	0	0	0.00
39	Pune Commr.	0	0	0.00	0	0	0.00	0	0	0.00
40	Thane Commr.	0	0	0.00	0	0	0.00	0	0	0.00
41	Mumbai Commr.	0	0	0.00	0	0	0.00	1	0	1.00
42	Nasik Commr.	0	0	0.00	0	0	0.00	0	0	0.00
43	Aurangabad Commr.	0	0	0.00	1	0	1.00	0	0	0.00
44	Solapur Commr.	0	0	0.00	0	0	0.00	0	0	0.00
45	Navi Mumbai	3	0	3.00	0	0	0.00	0	0	0.00
46	Amravati Commr.	0	0	0.00	0	0	0.00	0	0	0.00
*	**Total of Commrs.**	**3**	**0**	**3**	**1**	**0**	**1**	**1**	**0**	**1**
**	**Total**	**7**	**0**	**7**	**12**	**1**	**13**	**1**	**0**	**1**

तक्ता क्र. ६८ (पुढे चालू)

सन २०१५ मध्ये विशेष व स्थानिक कायदयांर्गत गुन्ह्यांमधील घटक-निहाय अटक आरोपी (लिंग-निहाय व गुन्हे शीर्ष-निहाय)

TABLE NO. 68 (Contd…)

Unit-Wise Persons Arrested Under S.L.L. Crime During 2015 (Gender-Wise And Crimehead- Wise)

Sr. No.	Unit	Lotteries (Regulation) Act, 1998			Citizenship Act, 1955			Foreigners Act, 1946		
		Male	Female	Total	Male	Female	Total	Male	Female	Total
1	2	156	157	158	159	160	161	162	163	164
1	Akola	0	0	0.00	0	0	0.00	0	0	0.00
2	Amravati Rural	0	0	0.00	0	0	0.00	0	0	0.00
3	Buldhana	0	0	0.00	0	0	0.00	0	0	0.00
4	Yavatmal	0	0	0.00	0	0	0.00	0	0	0.00
5	Washim	0	0	0.00	0	0	0.00	0	0	0.00
*	**Amaravati Range**	**0**	**0**	**0.00**	**0**	**0**	**0.00**	**0**	**0**	**0.00**
6	Aurangabad Rural	0	0	0.00	0	0	0.00	0	0	0.00
7	Jalna	0	0	0.00	0	0	0.00	0	0	0.00
8	Beed	0	0	0.00	0	0	0.00	0	0	0.00
9	Osmanabad	0	0	0.00	0	0	0.00	0	0	0.00
*	**A'bad Range**	**0**	**0**	**0.00**	**0**	**0**	**0.00**	**0**	**0**	**0.00**
10	Nanded	0	0	0.00	0	0	0.00	0	0	0.00
11	Latur	0	0	0.00	0	0	0.00	0	0	0.00
12	Parbhani	0	0	0.00	0	0	0.00	0	0	0.00
13	Hingoli	0	0	0.00	0	0	0.00	0	0	0.00
*	**Nanded Range**	**0**	**0**	**0.00**	**0**	**0**	**0.00**	**0**	**0**	**0.00**
14	Kolhapur	0	0	0.00	0	0	0.00	0	0	0.00
15	Pune Rural	0	0	0.00	0	0	0.00	0	0	0.00
16	Sangli	0	0	0.00	0	0	0.00	0	0	0.00
17	Satara	0	0	0.00	0	0	0.00	0	0	0.00
18	Solapur Rural	0	0	0.00	0	0	0.00	0	0	0.00
*	**Kolhapur Range**	**0**	**0**	**0.00**	**0**	**0**	**0.00**	**0**	**0**	**0.00**
19	Bhandara	0	0	0.00	0	0	0.00	0	0	0.00
20	Chandrapur	0	0	0.00	0	0	0.00	0	0	0.00
21	Nagpur Rural	0	0	0.00	0	0	0.00	0	0	0.00
22	Wardha	0	0	0.00	0	0	0.00	0	0	0.00
*	**Nagpur Range**	**0**	**0**	**0.00**	**0**	**0**	**0.00**	**0**	**0**	**0.00**
23	Gadchiroli	0	0	0.00	0	0	0.00	0	0	0.00
24	Gondia	0	0	0.00	0	0	0.00	0	0	0.00
*	Gadchiroli Range	0	0	0.00	0	0	0.00	0	0	0.00
25	Ahmednagar	0	0	0.00	0	0	0.00	0	0	0.00
26	Dhule	0	0	0.00	0	0	0.00	0	0	0.00
27	Jalgaon	0	0	0.00	0	0	0.00	0	0	0.00
28	Nasik Rural	0	0	0.00	0	0	0.00	2	0	2.00
29	Nandurbar	0	0	0.00	0	0	0.00	0	0	0.00
*	**Nasik Range**	**0**	**0**	**0.00**	**0**	**0**	**0.00**	**2**	**0**	**2.00**
30	Raigad	0	0	0.00	0	0	0.00	0	0	0.00
31	Ratnagiri	0	0	0.00	0	0	0.00	1	0	1.00
32	Sindhudurg	0	0	0.00	0	0	0.00	0	0	0.00
33	Thane Rural	0	0	0.00	0	0	0.00	0	0	0.00
34	Palghar	0	0	0.00	0	0	0.00	0	0	0.00
*	**Thane Range**	**0**	**0**	**0.00**	**0**	**0**	**0.00**	**1**	**0**	**1.00**
35	Mumbai Railway	0	0	0.00	0	0	0.00	0	0	0.00
36	Pune Railway	0	0	0.00	0	0	0.00	0	0	0.00
37	Nagpur Railway	0	0	0.00	0	0	0.00	0	0	0.00
*	**Railways Range**	**0**	**0**	**0.00**	**0**	**0**	**0.00**	**0**	**0**	**0.00**
38	Nagpur Commr.	24	0	24.00	0	0	0.00	0	0	0.00
39	Pune Commr.	0	0	0.00	0	0	0.00	2	1	3.00
40	Thane Commr.	0	0	0.00	0	0	0.00	0	0	0.00
41	Mumbai Commr.	0	0	0.00	0	0	0.00	15	2	17.00
42	Nasik Commr.	0	0	0.00	0	0	0.00	0	0	0.00
43	Aurangabad Commr.	0	0	0.00	0	0	0.00	0	0	0.00
44	Solapur Commr.	0	0	0.00	0	0	0.00	0	0	0.00
45	Navi Mumbai	3	0	3.00	0	0	0.00	0	0	0.00
46	Amravati Commr.	0	0	0.00	0	0	0.00	0	0	0.00
*	**Total of Commrs.**	**27**	**0**	**27**	**0**	**0**	**0**	**17**	**3**	**20**
**	**Total**	**27**	**0**	**27**	**0**	**0**	**0**	**20**	**3**	**23**

तक्ता क्र. ६८ (पुढे चालू)

सन २०१५ मध्ये विशेष व स्थानिक कायदयांर्गत गुन्ह्यांमधील घटक-निहाय अटक आरोपी (लिंग-निहाय व गुन्हे शीर्ष-निहाय)

TABLE NO. 68 (Contd…)

Unit-Wise Persons Arrested Under S.L.L. Crime During 2015 (Gender-Wise And Crimehead- Wise)

Sr. No.	Unit	Place Of Worship (Special Provisions) Act, 1991			Religious Institution (Prevention Of Misuse) Act, 1988			Representation of the People Act,1951		
		Male	Female	Total	Male	Female	Total	Male	Female	Total
1	2	165	166	167	168	169	170	171	172	173
1	Akola	0	0	0.00	0	0	0.00	0	0	0.00
2	Amravati Rural	0	0	0.00	0	0	0.00	0	0	0.00
3	Buldhana	0	0	0.00	0	0	0.00	0	0	0.00
4	Yavatmal	0	0	0.00	0	0	0.00	0	0	0.00
5	Washim	0	0	0.00	0	0	0.00	0	0	0.00
*	**Amaravati Range**	**0**	**0**	**0.00**	**0**	**0**	**0.00**	**0**	**0**	**0.00**
6	Aurangabad Rural	0	0	0.00	0	0	0.00	0	0	0.00
7	Jalna	0	0	0.00	0	0	0.00	0	0	0.00
8	Beed	0	0	0.00	0	0	0.00	0	0	0.00
9	Osmanabad	0	0	0.00	0	0	0.00	0	0	0.00
*	**A'bad Range**	**0**	**0**	**0.00**	**0**	**0**	**0.00**	**0**	**0**	**0.00**
10	Nanded	0	0	0.00	0	0	0.00	0	0	0.00
11	Latur	0	0	0.00	0	0	0.00	0	0	0.00
12	Parbhani	0	0	0.00	0	0	0.00	1	0	1.00
13	Hingoli	0	0	0.00	0	0	0.00	0	0	0.00
*	**Nanded Range**	**0**	**0**	**0.00**	**0**	**0**	**0.00**	**1**	**0**	**1.00**
14	Kolhapur	0	0	0.00	0	0	0.00	2	0	2.00
15	Pune Rural	0	0	0.00	0	0	0.00	0	0	0.00
16	Sangli	0	0	0.00	0	0	0.00	3	0	3.00
17	Satara	0	0	0.00	0	0	0.00	0	0	0.00
18	Solapur Rural	0	0	0.00	0	0	0.00	1	0	1.00
*	**Kolhapur Range**	**0**	**0**	**0.00**	**0**	**0**	**0.00**	**6**	**0**	**6.00**
19	Bhandara	0	0	0.00	0	0	0.00	0	0	0.00
20	Chandrapur	0	0	0.00	0	0	0.00	0	0	0.00
21	Nagpur Rural	0	0	0.00	0	0	0.00	0	0	0.00
22	Wardha	0	0	0.00	0	0	0.00	0	0	0.00
*	**Nagpur Range**	**0**	**0**	**0.00**	**0**	**0**	**0.00**	**0**	**0**	**0.00**
23	Gadchiroli	0	0	0.00	0	0	0.00	0	0	0.00
24	Gondia	0	0	0.00	0	0	0.00	0	0	0.00
*	**Gadchiroli Range**	**0**	**0**	**0.00**	**0**	**0**	**0.00**	**0**	**0**	**0.00**
25	Ahmednagar	0	0	0.00	0	0	0.00	0	0	0.00
26	Dhule	0	0	0.00	0	0	0.00	0	0	0.00
27	Jalgaon	0	0	0.00	0	0	0.00	2	0	2.00
28	Nasik Rural	0	0	0.00	0	0	0.00	0	0	0.00
29	Nandurbar	0	0	0.00	0	0	0.00	0	0	0.00
*	**Nasik Range**	**0**	**0**	**0.00**	**0**	**0**	**0.00**	**2**	**0**	**2.00**
30	Raigad	0	0	0.00	0	0	0.00	0	0	0.00
31	Ratnagiri	0	0	0.00	0	0	0.00	0	0	0.00
32	Sindhudurg	0	0	0.00	0	0	0.00	0	0	0.00
33	Thane Rural	0	0	0.00	0	0	0.00	0	0	0.00
34	Palghar	0	0	0.00	0	0	0.00	0	0	0.00
*	**Thane Range**	**0**	**0**	**0.00**	**0**	**0**	**0.00**	**0**	**0**	**0.00**
35	Mumbai Railway	0	0	0.00	0	0	0.00	0	0	0.00
36	Pune Railway	0	0	0.00	0	0	0.00	0	0	0.00
37	Nagpur Railway	0	0	0.00	0	0	0.00	0	0	0.00
*	**Railways Range**	**0**	**0**	**0.00**	**0**	**0**	**0.00**	**0**	**0**	**0.00**
38	Nagpur Commr.	0	0	0.00	0	0	0.00	0	0	0.00
39	Pune Commr.	0	0	0.00	0	0	0.00	0	0	0.00
40	Thane Commr.	0	0	0.00	0	0	0.00	0	0	0.00
41	Mumbai Commr.	0	0	0.00	0	0	0.00	0	0	0.00
42	Nasik Commr.	0	0	0.00	0	0	0.00	0	0	0.00
43	Aurangabad Commr.	0	0	0.00	0	0	0.00	14	0	14.00
44	Solapur Commr.	0	0	0.00	0	0	0.00	0	0	0.00
45	Navi Mumbai	0	0	0.00	0	0	0.00	0	0	0.00
46	Amravati Commr.	0	0	0.00	0	0	0.00	0	0	0.00
*	**Total of Commrs.**	**0**	**0**	**0**	**0**	**0**	**0**	**14**	**0**	**14**
**	**Total**	**0**	**0**	**0**	**0**	**0**	**0**	**23**	**0**	**23**

तक्ता क्र. ६८ (पुढे चालू)

सन २०१५ मध्ये विशेष व स्थानिक कायदयांर्गत गुन्ह्यांमधील घटक-निहाय अटक आरोपी (लिंग-निहाय व गुन्हे शीर्ष-निहाय)

TABLE NO. 68 (Contd…)

Unit-Wise Persons Arrested Under S.L.L. Crime During 2015 (Gender-Wise And Crimehead- Wise)

Sr. No.	Unit	Emigration Act, 1983			Juvenile Justice (Care And Protection Of Children) Act, 2000			Infant Milk Substitutes, Feeding Bottles And Infant Foods (Regulation Of Production, Supply And Distribution) Amendment Act, 2003		
		Male	Female	Total	Male	Female	Total	Male	Female	Total
1	2	174	175	176	177	178	179	180	181	182
1	Akola	0	0	0.00	2	0	2.00	0	0	0.00
2	Amravati Rural	0	0	0.00	0	0	0.00	0	0	0.00
3	Buldhana	0	0	0.00	0	0	0.00	0	0	0.00
4	Yavatmal	0	0	0.00	0	0	0.00	0	0	0.00
5	Washim	0	0	0.00	0	0	0.00	0	0	0.00
*	**Amaravati Range**	**0**	**0**	**0.00**	**2**	**0**	**2.00**	**0**	**0**	**0.00**
6	Aurangabad Rural	0	0	0.00	0	0	0.00	0	0	0.00
7	Jalna	0	0	0.00	0	0	0.00	0	0	0.00
8	Beed	0	0	0.00	0	0	0.00	0	0	0.00
9	Osmanabad	0	0	0.00	0	0	0.00	0	0	0.00
*	**A'bad Range**	**0**	**0**	**0.00**	**0**	**0**	**0.00**	**0**	**0**	**0.00**
10	Nanded	0	0	0.00	0	0	0.00	0	0	0.00
11	Latur	0	0	0.00	0	0	0.00	0	0	0.00
12	Parbhani	0	0	0.00	0	0	0.00	0	0	0.00
13	Hingoli	0	0	0.00	0	0	0.00	0	0	0.00
*	**Nanded Range**	**0**	**0**	**0.00**	**0**	**0**	**0.00**	**0**	**0**	**0.00**
14	Kolhapur	0	0	0.00	0	0	0.00	0	0	0.00
15	Pune Rural	0	0	0.00	0	0	0.00	0	0	0.00
16	Sangli	0	0	0.00	0	0	0.00	0	0	0.00
17	Satara	0	0	0.00	0	0	0.00	0	0	0.00
18	Solapur Rural	0	0	0.00	0	0	0.00	0	0	0.00
*	**Kolhapur Range**	**0**	**0**	**0.00**	**0**	**0**	**0.00**	**0**	**0**	**0.00**
19	Bhandara	0	0	0.00	0	0	0.00	0	0	0.00
20	Chandrapur	0	0	0.00	3	0	3.00	0	0	0.00
21	Nagpur Rural	0	0	0.00	0	0	0.00	0	0	0.00
22	Wardha	0	0	0.00	0	0	0.00	0	0	0.00
*	**Nagpur Range**	**0**	**0**	**0.00**	**3**	**0**	**3.00**	**0**	**0**	**0.00**
23	Gadchiroli	0	0	0.00	0	0	0.00	0	0	0.00
24	Gondia	0	0	0.00	0	0	0.00	0	0	0.00
*	**Gadchiroli Range**	**0**	**0**	**0.00**	**0**	**0**	**0.00**	**0**	**0**	**0.00**
25	Ahmednagar	0	0	0.00	0	0	0.00	0	0	0.00
26	Dhule	0	0	0.00	0	0	0.00	0	0	0.00
27	Jalgaon	0	0	0.00	0	0	0.00	0	0	0.00
28	Nasik Rural	0	0	0.00	0	0	0.00	0	0	0.00
29	Nandurbar	0	0	0.00	0	0	0.00	0	0	0.00
*	**Nasik Range**	**0**	**0**	**0.00**	**0**	**0**	**0.00**	**0**	**0**	**0.00**
30	Raigad	0	0	0.00	0	0	0.00	0	0	0.00
31	Ratnagiri	0	0	0.00	0	0	0.00	0	0	0.00
32	Sindhudurg	0	0	0.00	0	0	0.00	0	0	0.00
33	Thane Rural	0	0	0.00	0	0	0.00	0	0	0.00
34	Palghar	0	0	0.00	0	0	0.00	0	0	0.00
*	**Thane Range**	**0**	**0**	**0.00**	**0**	**0**	**0.00**	**0**	**0**	**0.00**
35	Mumbai Railway	0	0	0.00	0	0	0.00	0	0	0.00
36	Pune Railway	0	0	0.00	0	0	0.00	0	0	0.00
37	Nagpur Railway	0	0	0.00	0	0	0.00	0	0	0.00
*	**Railways Range**	**0**	**0**	**0.00**	**0**	**0**	**0.00**	**0**	**0**	**0.00**
38	Nagpur Commr.	0	0	0.00	1	0	1.00	0	0	0.00
39	Pune Commr.	0	0	0.00	5	0	5.00	0	0	0.00
40	Thane Commr.	0	0	0.00	0	0	0.00	0	0	0.00
41	Mumbai Commr.	0	0	0.00	193	88	281.00	0	0	0.00
42	Nasik Commr.	0	0	0.00	1	6	7.00	0	0	0.00
43	Aurangabad Commr.	0	0	0.00	0	0	0.00	0	0	0.00
44	Solapur Commr.	0	0	0.00	0	0	0.00	0	0	0.00
45	Navi Mumbai	0	0	0.00	0	3	3.00	0	0	0.00
46	Amravati Commr.	0	0	0.00	0	0	0.00	0	0	0.00
*	**Total of Commrs.**	**0**	**0**	**0**	**200**	**97**	**297**	**0**	**0**	**0**
**	**Total**	**0**	**0**	**0**	**205**	**97**	**302**	**0**	**0**	**0**

तक्ता क्र. ६८ (पुढे चालू)

सन २०१५ मध्ये विशेष व स्थानिक कायदयांर्गत गुन्ह्यांमधील घटक-निहाय अटक आरोपी (लिंग-निहाय व गुन्हे शीर्ष-निहाय)

TABLE NO. 68 (Contd…)

Unit-Wise Persons Arrested Under S.L.L. Crime During 2015 (Gender-Wise And Crimehead- Wise)

Sr. No.	Unit	Anti Hijacking Act, 1982			Atomic Energy Act, 1962			Weapons Of Mass Destruction And Their Delivery Systems (Prohibition Of Unlawful Activities) Act, 2005		
		Male	Female	Total	Male	Female	Total	Male	Female	Total
1	2	183	184	185	186	187	188	189	190	191
1	Akola	0	0	0.00	0	0	0.00	0	0	0.00
2	Amravati Rural	0	0	0.00	0	0	0.00	0	0	0.00
3	Buldhana	0	0	0.00	0	0	0.00	0	0	0.00
4	Yavatmal	0	0	0.00	0	0	0.00	0	0	0.00
5	Washim	0	0	0.00	0	0	0.00	0	0	0.00
*	**Amaravati Range**	**0**	**0**	**0.00**	**0**	**0**	**0.00**	**0**	**0**	**0.00**
6	Aurangabad Rural	0	0	0.00	0	0	0.00	0	0	0.00
7	Jalna	0	0	0.00	0	0	0.00	0	0	0.00
8	Beed	0	0	0.00	0	0	0.00	0	0	0.00
9	Osmanabad	0	0	0.00	0	0	0.00	0	0	0.00
*	**A'bad Range**	**0**	**0**	**0.00**	**0**	**0**	**0.00**	**0**	**0**	**0.00**
10	Nanded	0	0	0.00	0	0	0.00	0	0	0.00
11	Latur	0	0	0.00	0	0	0.00	0	0	0.00
12	Parbhani	0	0	0.00	0	0	0.00	0	0	0.00
13	Hingoli	0	0	0.00	0	0	0.00	0	0	0.00
*	**Nanded Range**	**0**	**0**	**0.00**	**0**	**0**	**0.00**	**0**	**0**	**0.00**
14	Kolhapur	0	0	0.00	0	0	0.00	0	0	0.00
15	Pune Rural	0	0	0.00	0	0	0.00	0	0	0.00
16	Sangli	0	0	0.00	0	0	0.00	0	0	0.00
17	Satara	0	0	0.00	0	0	0.00	0	0	0.00
18	Solapur Rural	0	0	0.00	0	0	0.00	0	0	0.00
*	**Kolhapur Range**	**0**	**0**	**0.00**	**0**	**0**	**0.00**	**0**	**0**	**0.00**
19	Bhandara	0	0	0.00	0	0	0.00	0	0	0.00
20	Chandrapur	0	0	0.00	0	0	0.00	0	0	0.00
21	Nagpur Rural	0	0	0.00	0	0	0.00	0	0	0.00
22	Wardha	0	0	0.00	0	0	0.00	0	0	0.00
*	**Nagpur Range**	**0**	**0**	**0.00**	**0**	**0**	**0.00**	**0**	**0**	**0.00**
23	Gadchiroli	0	0	0.00	0	0	0.00	0	0	0.00
24	Gondia	0	0	0.00	0	0	0.00	0	0	0.00
*	**Gadchiroli Range**	**0**	**0**	**0.00**	**0**	**0**	**0.00**	**0**	**0**	**0.00**
25	Ahmednagar	0	0	0.00	0	0	0.00	0	0	0.00
26	Dhule	0	0	0.00	0	0	0.00	0	0	0.00
27	Jalgaon	0	0	0.00	0	0	0.00	0	0	0.00
28	Nasik Rural	0	0	0.00	0	0	0.00	0	0	0.00
29	Nandurbar	0	0	0.00	0	0	0.00	0	0	0.00
*	**Nasik Range**	**0**	**0**	**0.00**	**0**	**0**	**0.00**	**0**	**0**	**0.00**
30	Raigad	0	0	0.00	0	0	0.00	0	0	0.00
31	Ratnagiri	0	0	0.00	0	0	0.00	0	0	0.00
32	Sindhudurg	0	0	0.00	0	0	0.00	0	0	0.00
33	Thane Rural	0	0	0.00	0	0	0.00	0	0	0.00
34	Palghar	0	0	0.00	0	0	0.00	0	0	0.00
*	**Thane Range**	**0**	**0**	**0.00**	**0**	**0**	**0.00**	**0**	**0**	**0.00**
35	Mumbai Railway	0	0	0.00	0	0	0.00	0	0	0.00
36	Pune Railway	0	0	0.00	0	0	0.00	0	0	0.00
37	Nagpur Railway	0	0	0.00	0	0	0.00	0	0	0.00
*	**Railways Range**	**0**	**0**	**0.00**	**0**	**0**	**0.00**	**0**	**0**	**0.00**
38	Nagpur Commr.	0	0	0.00	0	0	0.00	0	0	0.00
39	Pune Commr.	0	0	0.00	0	0	0.00	0	0	0.00
40	Thane Commr.	0	0	0.00	0	0	0.00	0	0	0.00
41	Mumbai Commr.	0	0	0.00	0	0	0.00	0	0	0.00
42	Nasik Commr.	0	0	0.00	0	0	0.00	0	0	0.00
43	Aurangabad Commr.	0	0	0.00	0	0	0.00	0	0	0.00
44	Solapur Commr.	0	0	0.00	0	0	0.00	0	0	0.00
45	Navi Mumbai	0	0	0.00	0	0	0.00	0	0	0.00
46	Amravati Commr.	0	0	0.00	0	0	0.00	0	0	0.00
*	**Total of Commrs.**	**0**	**0**	**0**	**0**	**0**	**0**	**0**	**0**	**0**
**	**Total**	**0**	**0**	**0**	**0**	**0**	**0**	**0**	**0**	**0**

तक्ता क्र. ६८ (पुढे चालू)

सन २०१५ मध्ये विशेष व स्थानिक कायदयांर्गत गुन्ह्यांमधील घटक-निहाय अटक आरोपी (लिंग-निहाय व गुन्हे शीर्ष-निहाय)

TABLE NO. 68 (Contd…)

Unit-Wise Persons Arrested Under S.L.L. Crime During 2015 (Gender-Wise And Crimehead- Wise)

Sr. No.	Unit	Suppression Of Unlawful Acts Against Safety Of Civil Aviation Act, 1982			Suppression Of Unlawful Acts Against Safety Of Maritime Navigation And Fixed Platforms On Continental Shelf Act, 2002			The Employment Of Manual Scavengers And Construction Of Dry Latrines (Prohibition) Act, 1993		
		Male	Female	Total	Male	Female	Total	Male	Female	Total
1	2	192	193	194	195	196	197	198	199	200
1	Akola	0	0	0.00	0	0	0.00	0	0	0.00
2	Amravati Rural	0	0	0.00	0	0	0.00	0	0	0.00
3	Buldhana	0	0	0.00	0	0	0.00	0	0	0.00
4	Yavatmal	0	0	0.00	0	0	0.00	0	0	0.00
5	Washim	0	0	0.00	0	0	0.00	0	0	0.00
*	**Amaravati Range**	**0**	**0**	**0.00**	**0**	**0**	**0.00**	**0**	**0**	**0.00**
6	Aurangabad Rural	0	0	0.00	0	0	0.00	0	0	0.00
7	Jalna	0	0	0.00	0	0	0.00	0	0	0.00
8	Beed	0	0	0.00	0	0	0.00	0	0	0.00
9	Osmanabad	0	0	0.00	0	0	0.00	0	0	0.00
*	**A'bad Range**	**0**	**0**	**0.00**	**0**	**0**	**0.00**	**0**	**0**	**0.00**
10	Nanded	0	0	0.00	0	0	0.00	0	0	0.00
11	Latur	0	0	0.00	0	0	0.00	0	0	0.00
12	Parbhani	0	0	0.00	0	0	0.00	0	0	0.00
13	Hingoli	0	0	0.00	0	0	0.00	0	0	0.00
*	**Nanded Range**	**0**	**0**	**0.00**	**0**	**0**	**0.00**	**0**	**0**	**0.00**
14	Kolhapur	0	0	0.00	0	0	0.00	0	0	0.00
15	Pune Rural	0	0	0.00	0	0	0.00	0	0	0.00
16	Sangli	0	0	0.00	0	0	0.00	0	0	0.00
17	Satara	0	0	0.00	0	0	0.00	0	0	0.00
18	Solapur Rural	0	0	0.00	0	0	0.00	0	0	0.00
*	**Kolhapur Range**	**0**	**0**	**0.00**	**0**	**0**	**0.00**	**0**	**0**	**0.00**
19	Bhandara	0	0	0.00	0	0	0.00	0	0	0.00
20	Chandrapur	0	0	0.00	0	0	0.00	0	0	0.00
21	Nagpur Rural	0	0	0.00	0	0	0.00	0	0	0.00
22	Wardha	0	0	0.00	0	0	0.00	0	0	0.00
*	**Nagpur Range**	**0**	**0**	**0.00**	**0**	**0**	**0.00**	**0**	**0**	**0.00**
23	Gadchiroli	0	0	0.00	0	0	0.00	0	0	0.00
24	Gondia	0	0	0.00	0	0	0.00	0	0	0.00
*	**Gadchiroli Range**	**0**	**0**	**0.00**	**0**	**0**	**0.00**	**0**	**0**	**0.00**
25	Ahmednagar	0	0	0.00	0	0	0.00	0	0	0.00
26	Dhule	0	0	0.00	0	0	0.00	0	0	0.00
27	Jalgaon	0	0	0.00	0	0	0.00	0	0	0.00
28	Nasik Rural	0	0	0.00	0	0	0.00	0	0	0.00
29	Nandurbar	0	0	0.00	0	0	0.00	0	0	0.00
*	**Nasik Range**	**0**	**0**	**0.00**	**0**	**0**	**0.00**	**0**	**0**	**0.00**
30	Raigad	0	0	0.00	0	0	0.00	0	0	0.00
31	Ratnagiri	0	0	0.00	0	0	0.00	0	0	0.00
32	Sindhudurg	0	0	0.00	0	0	0.00	0	0	0.00
33	Thane Rural	0	0	0.00	0	0	0.00	0	0	0.00
34	Palghar	0	0	0.00	0	0	0.00	0	0	0.00
*	**Thane Range**	**0**	**0**	**0.00**	**0**	**0**	**0.00**	**0**	**0**	**0.00**
35	Mumbai Railway	0	0	0.00	0	0	0.00	0	0	0.00
36	Pune Railway	0	0	0.00	0	0	0.00	0	0	0.00
37	Nagpur Railway	0	0	0.00	0	0	0.00	0	0	0.00
*	**Railways Range**	**0**	**0**	**0.00**	**0**	**0**	**0.00**	**0**	**0**	**0.00**
38	Nagpur Commr.	0	0	0.00	0	0	0.00	0	0	0.00
39	Pune Commr.	0	0	0.00	0	0	0.00	0	0	0.00
40	Thane Commr.	0	0	0.00	0	0	0.00	0	0	0.00
41	Mumbai Commr.	0	0	0.00	0	0	0.00	0	0	0.00
42	Nasik Commr.	0	0	0.00	0	0	0.00	0	0	0.00
43	Aurangabad Commr.	0	0	0.00	0	0	0.00	0	0	0.00
44	Solapur Commr.	0	0	0.00	0	0	0.00	0	0	0.00
45	Navi Mumbai	0	0	0.00	0	0	0.00	0	0	0.00
46	Amravati Commr.	0	0	0.00	0	0	0.00	0	0	0.00
*	**Total of Commrs.**	**0**	**0**	**0**	**0**	**0**	**0**	**0**	**0**	**0**
**	**Total**	**0**	**0**	**0**	**0**	**0**	**0**	**0**	**0**	**0**

तक्ता क्र. ६८ (पुढे चालू)

सन २०१५ मध्ये विशेष व स्थानिक कायदयांर्गत गुन्ह्यांमधील घटक-निहाय अटक आरोपी (लिंग-निहाय व गुन्हे शीर्ष-निहाय)

TABLE NO. 68 (Contd…)

Unit-Wise Persons Arrested Under S.L.L. Crime During 2015 (Gender-Wise And Crimehead- Wise)

Sr. No.	Unit	Pre-Natal Diagnostic Techniques (Regulation And Prevention Of Misuse) Act, 1994			The Maritime Zones Of India (Regulation Of Fishing By Foreign Vessels) Act, 1981		
		Male	Female	Total	Male	Female	Total
1	2	201	202	203	204	205	206
1	Akola	0	**0**	**0**	0	0	**0**
2	Amravati Rural	0	**0**	**0**	0	0	**0**
3	Buldhana	0	**0**	**0**	0	0	**0**
4	Yavatmal	0	**0**	**0**	0	0	**0**
5	Washim	0	**0**	**0**	0	0	**0**
*	**Amaravati Range**	**0**	**0**	**0**	**0**	**0**	**0**
6	Aurangabad Rural	0	**0**	**0**	0	0	**0**
7	Jalna	0	**0**	**0**	0	0	**0**
8	Beed	0	**0**	**0**	0	0	**0**
9	Osmanabad	0	**0**	**0**	0	0	**0**
*	**A'bad Range**	**0**	**0**	**0**	**0**	**0**	**0**
10	Nanded	0	**0**	**0**	0	0	**0**
11	Latur	0	**0**	**0**	0	0	**0**
12	Parbhani	0	**0**	**0**	0	0	**0**
13	Hingoli	0	**0**	**0**	0	0	**0**
*	**Nanded Range**	**0**	**0**	**0**	**0**	**0**	**0**
14	Kolhapur	0	**0**	**0**	0	0	**0**
15	Pune Rural	0	**0**	**0**	0	0	**0**
16	Sangli	0	**0**	**0**	0	0	**0**
17	Satara	0	**0**	**0**	0	0	**0**
18	Solapur Rural	0	**0**	**0**	0	0	**0**
*	**Kolhapur Range**	**0**	**0**	**0**	**0**	**0**	**0**
19	Bhandara	0	**0**	**0**	0	0	**0**
20	Chandrapur	0	**0**	**0**	0	0	**0**
21	Nagpur Rural	0	**0**	**0**	0	0	**0**
22	Wardha	0	**0**	**0**	0	0	**0**
*	**Nagpur Range**	**0**	**0**	**0**	**0**	**0**	**0**
23	Gadchiroli	0	**0**	**0**	0	0	**0**
24	Gondia	0	**0**	**0**	0	0	**0**
*	**Gadchiroli Range**	**0**	**0**	**0**	**0**	**0**	**0**
25	Ahmednagar	0	**0**	**0**	0	0	**0**
26	Dhule	0	**0**	**0**	0	0	**0**
27	Jalgaon	0	**0**	**0**	0	0	**0**
28	Nasik Rural	0	**0**	**0**	0	0	**0**
29	Nandurbar	0	**0**	**0**	0	0	**0**
*	**Nasik Range**	**0**	**0**	**0**	**0**	**0**	**0**
30	Raigad	0	**0**	**0**	0	0	**0**
31	Ratnagiri	0	**0**	**0**	0	0	**0**
32	Sindhudurg	0	**0**	**0**	0	0	**0**
33	Thane Rural	0	**0**	**0**	0	0	**0**
34	Palghar	0	**0**	**0**	0	0	**0**
*	**Thane Range**	**0**	**0**	**0**	**0**	**0**	**0**
35	Mumbai Railway	0	**0**	**0**	0	0	**0**
36	Pune Railway	0	**0**	**0**	0	0	**0**
37	Nagpur Railway	0	**0**	**0**	0	0	**0**
*	**Railways Range**	**0**	**0**	**0**	**0**	**0**	**0**
38	Nagpur Commr.	0	**0**	**0**	0	0	**0**
39	Pune Commr.	0	**0**	**0**	0	0	**0**
40	Thane Commr.	0	**0**	**0**	0	0	**0**
41	Mumbai Commr.	0	**0**	**0**	0	0	**0**
42	Nasik Commr.	0	**0**	**0**	0	0	**0**
43	Aurangabad Commr.	0	**0**	**0**	0	0	**0**
44	Solapur Commr.	0	**0**	**0**	0	0	**0**
45	Navi Mumbai	0	**0**	**0**	0	0	**0**
46	Amravati Commr.	0	**0**	**0**	0	0	**0**
*	**Total of Commrs.**	**0**	**0**	**0**	**0**	**0**	**0**
**	**Total**	**0**	**0**	**0**	**0**	**0**	**0**

तक्ता क्र. ६८ (पुढे चालू)

सन २०१५ मध्ये विशेष व स्थानिक कायदयांर्गत गुन्ह्यांमधील घटक-निहाय अटक आरोपी (लिंग-निहाय व गुन्हे शीर्ष-निहाय)

TABLE NO. 68 (Contd…)

Unit-Wise Persons Arrested Under S.L.L. Crime During 2015 (Gender-Wise And Crimehead- Wise)

Sr. No.	Unit	Other SLL Crimes			Total Cognizable SLL Crimes		
		Male	Female	Total	Male	Female	Total
1	2	207	208	209	210	211	212
1	Akola	301	12	313.00	3011	84	3095.00
2	Amravati Rural	1009	9	1018.00	5918	50	5968.00
3	Buldhana	286	0	286.00	5863	250	6113.00
4	Yavatmal	933	18	951.00	6774	268	7042.00
5	Washim	120	1	121.00	1708	70	1778.00
*	**Amaravati Range**	**2649**	**40**	**2689.00**	**23274**	**722**	**23996.00**
6	Aurangabad Rural	346	2	348.00	2535	15	2550.00
7	Jalna	830	7	837.00	3803	7	3810.00
8	Beed	416	16	432.00	4644	78	4722.00
9	Osmanabad	208	8	216.00	2210	89	2299.00
*	**A'bad Range**	**1800**	**33**	**1833.00**	**13192**	**189**	**13381.00**
10	Nanded	697	14	711.00	3682	121	3803.00
11	Latur	427	31	458.00	2760	64	2824.00
12	Parbhani	315	1	316.00	2608	50	2658.00
13	Hingoli	89	1	90.00	1415	35	1450.00
*	**Nanded Range**	**1528**	**47**	**1575.00**	**10465**	**270**	**10735.00**
14	Kolhapur	301	3	304.00	2270	58	2328.00
15	Pune Rural	513	9	522.00	3418	79	3497.00
16	Sangli	288	16	304.00	2293	82	2375.00
17	Satara	744	21	765.00	2846	111	2957.00
18	Solapur Rural	786	3	789.00	6104	145	6249.00
*	**Kolhapur Range**	**2632**	**52**	**2684.00**	**16931**	**475**	**17406.00**
19	Bhandara	340	6	346.00	2609	209	2818.00
20	Chandrapur	1328	19	1347.00	8962	478	9440.00
21	Nagpur Rural	298	0	298.00	5333	85	5418.00
22	Wardha	401	0	401.00	12263	205	12468.00
*	**Nagpur Range**	**2367**	**25**	**2392.00**	**29167**	**977**	**30144.00**
23	Gadchiroli	199	3	202.00	1894	559	2453.00
24	Gondia	299	3	302.00	2451	275	2726.00
*	**Gadchiroli Range**	**498**	**6**	**504.00**	**4345**	**834**	**5179.00**
25	Ahmednagar	720	7	727.00	4768	139	4907.00
26	Dhule	202	2	204.00	1379	42	1421.00
27	Jalgaon	391	8	399.00	4262	140	4402.00
28	Nasik Rural	512	3	515.00	2452	177	2629.00
29	Nandurbar	72	2	74.00	1156	41	1197.00
*	**Nasik Range**	**1897**	**22**	**1919.00**	**14017**	**539**	**14556.00**
30	Raigad	94	4	98.00	673	92	765.00
31	Ratnagiri	60	3	63.00	472	31	503.00
32	Sindhudurg	41	5	46.00	335	44	379.00
33	Thane Rural	569	165	734.00	1203	271	1474.00
34	Palghar	360	5	365.00	815	86	901.00
*	**Thane Range**	**1124**	**182**	**1306.00**	**3498**	**524**	**4022.00**
35	Mumbai Railway	61	1	62.00	104	1	105.00
36	Pune Railway	33	7	40.00	48	7	55.00
37	Nagpur Railway	24	1	25.00	142	17	159.00
*	**Railways Range**	**118**	**9**	**127.00**	**294**	**25**	**319.00**
38	Nagpur Commr.	18933	23	18956.00	23701	476	24177.00
39	Pune Commr.	1896	27	1923.00	5684	411	6095.00
40	Thane Commr.	1601	160	1761.00	3512	293	3805.00
41	Mumbai Commr.	3950	524	4474.00	29840	1069	30909.00
42	Nasik Commr.	424	12	436.00	1469	27	1496.00
43	Aurangabad Commr.	322	7	329.00	1272	62	1334.00
44	Solapur Commr.	146	0	146.00	1599	0	1599.00
45	Navi Mumbai	372	13	385.00	1720	174	1894.00
46	Amravati Commr.	362	34	396.00	2288	84	2372.00
*	**Total of Commrs.**	**28006**	**800**	**28806.00**	**71085**	**2596**	**73681.00**
**	**Total**	**42619**	**1216**	**43835.00**	**186268**	**7151**	**193419.00**

तक्ता क्र. ६९
सन २०१५ मध्ये भा.दं.वि. आणि विशेष व स्थानिक कायद्यांतर्गत शीर्षनिहाय अटक झालेल्या आरोपींचे लिंग व वयोगटानुसार वर्गीकरण
TABLE NO. 69
Persons Arrested Under IPC & SLL Crimes During - 2015 (Gender-Wise And Age Group-Wise)

S.No.	Crime Head	Below 18 Years			18 & Above and Below 30 years			30 & Above and Below 45 years		
		Male	Female	Total	Male	Female	Total	Male	Female	Total
1	2	3	4	5	6	7	8	9	10	11
CRIME HEAD:										
A. I P C - CRIMES										
1	Murder	181	5	186	2427	154	2581	1597	219	1816
2	Attempt to commit Murder	262	7	269	4200	150	4350	2678	196	2874
3	Culpable Homicide not amounting to Murder	4	0	4	64	2	66	125	13	138
4	Attempt to commit Culpable Homicide	0	0	0	3	1	4	6	1	7
5	Rape	265	2	267	2934	111	3045	1307	130	1437
5.1	Custodial Rape	0	0	0	0	0	0	0	0	0
5.1.1	Gang Rape	0	0	0	0	0	0	0	0	0
5.1.2	Other Rape	0	0	0	0	0	0	0	0	0
5.2	Rape other than Custodial	265	2	267	2934	111	3045	1307	130	1437
5.2.1	Gang Rape	18	0	18	241	3	244	109	3	112
5.2.2	Other Rape	247	2	249	2693	108	2801	1198	127	1325
6	Attempt to commit Rape	1	0	1	10	0	10	3	0	3
7	Kidnapping & Abduction_Total	157	4	161	2504	91	2595	1163	140	1303
7.1	Kidnapping & Abduction	90	1	91	1220	33	1253	615	48	663
7.2	Kidnaping & Abduction in order to Murder	0	0	0	29	2	31	12	0	12
7.3	Kidnapping for Ransom	3	0	3	49	0	49	33	2	35
7.4	Kidnapping & Abduction of Women to compel her for marriage	48	3	51	785	31	816	282	62	344
7.5	Other Kidnapping	16	0	16	421	25	446	221	28	249
8	Dacoity	97	0	97	2081	40	2121	1128	40	1168
8.1	Dacoity with Murder	0	0	0	34	0	34	24	0	24
8.2	Other Dacoity	97	0	97	2047	40	2087	1104	40	1144
9	Making Preparation and Assembly for committing Dacoity	18	0	18	967	3	970	324	8	332
10	Robbery	461	0	461	6362	63	6425	2048	81	2129
11	Criminal Trespass/Burglary_Total	716	3	719	6757	118	6875	2687	93	2780
11.1	Criminal Trespass/Burglary	553	2	555	5330	74	5404	1997	59	2056
11.2	House Trespass & House Breaking	163	1	164	1427	44	1471	690	34	724
12	Theft	1687	48	1735	17735	470	18205	8831	434	9265
12.1	Auto Theft	581	0	581	5058	6	5064	1942	6	1948
12.2	Other Thefts	1106	48	1154	12677	464	13141	6889	428	7317
13	Unlawful Assembly	56	1	57	2490	271	2761	2374	356	2730
14	Riots	618	36	654	20399	1627	22026	13179	1829	15008
14.1	Communal	7	0	7	441	20	461	370	23	393
14.2	Industrial	0	0	0	160	17	177	53	2	55
14.3	Political	6	0	6	249	8	257	250	19	269
14.4	Caste Conflict	7	0	7	469	37	506	387	46	433
14.4.1	SC/STs Vs. Non-SCs/STs	6	0	6	316	17	333	211	18	229
14.4.2	Other Caste Riots	1	0	1	153	20	173	176	28	204
14.5	Agrarian	0	1	1	231	24	255	167	17	184
14.6	Students	0	0	0	0	0	0	0	0	0
14.7	Sectarian	0	0	0	0	0	0	0	0	0
14.8	Other Riots	598	35	633	18849	1521	20370	11952	1722	13674
15	Criminal Breach of Trust	4	0	4	817	24	841	1084	60	1144
16	Cheating	16	1	17	3427	200	3627	4094	347	4441
17	Forgery	0	0	0	357	33	390	470	39	509
18	Counterfeiting	1	0	1	75	10	85	55	5	60
18.1	Offences related to Counterfeit Coin	0	0	0	0	0	0	0	0	0
18.2	Counterfeiting Government Stamp	0	0	0	0	0	0	0	0	0
18.3	Counterfeit currency & Bank notes	1	0	1	75	10	85	55	5	60
18.3.1	Counterfeiting currency notes or Bank notes	0	0	0	28	0	28	25	1	26
18.3.2	Using forged or counterfeit currency/Bank notes	1	0	1	30	6	36	26	4	30
18.3.3	Possession of forged or counterfeiting currency / Bank notes	0	0	0	17	4	21	4	0	4
18.3.4	Make/Possess materials for forging or counterfeiting currency/Bank notes	0	0	0	0	0	0	0	0	0
18.3.5	Make/Use documents resembling currency notes/Bank notes	0	0	0	0	0	0	0	0	0
19	Arson	14	1	15	526	10	536	494	22	516
20	Grievous Hurt	416	12	428	7011	385	7396	4639	478	5117
20.1	Grievous Hurt	416	12	428	7008	384	7392	4636	477	5113
20.2	Acid attack	0	0	0	2	1	3	3	1	4
20.3	Attempt to Acid Attack	0	0	0	1	0	1	0	0	0
21	Dowry Deaths	3	3	6	238	73	311	163	89	252
22	Assault on women with intent to outrage her Modesty	383	2	385	7443	187	7630	4028	215	4243
22.1	Sexual Harassment	169	0	169	3055	57	3112	1687	91	1778
22.2	Assault on women with intent to Disrobe	20	1	21	293	15	308	172	13	185
22.3	Voyeurism	7	0	7	79	3	82	50	2	52
22.4	Stalking	57	0	57	884	5	889	361	7	368
22.5	Others	130	1	131	3132	107	3239	1758	102	1860
23	Insult to the Modesty of Women	18	0	18	599	9	608	406	18	424
23.1	At Office premises	0	0	0	13	0	13	10	0	10
23.2	Places related to work other than Office	1	0	1	93	2	95	78	5	83
23.3	In Public Transport system	1	0	1	23	1	24	7	0	7
23.4	in Other Places	16	0	16	470	6	476	311	13	324
24	Cruelty by Husband or his Relatives	18	2	20	4864	1909	6773	4878	2509	7387
25	Importation of Girls from Foreign Country	0	0	0	0	0	0	0	0	0
26	Causing Death by Negligence	90	3	93	4167	16	4183	3541	19	3560
26.1	Deaths due to negligent driving/act	81	2	83	4003	12	4015	3243	12	3255
26.2	Deaths due to Other Causes	9	1	10	164	4	168	298	7	305
27	Offences against State	0	0	0	0	0	0	0	0	0
27.1	Sedition	0	0	0	0	0	0	0	0	0
27.2	Other offences against State	0	0	0	0	0	0	0	0	0
28	Offences promoting enmity between different groups	0	0	0	31	0	31	94	2	96
28.1	Promoting enmity on ground of religion race and place of Birth	0	0	0	28	0	28	94	2	96
28.2	Imputation & assertions prejudicial to national integration	0	0	0	3	0	3	0	0	0
29	Extortion	21	0	21	681	22	703	553	28	581
30	Disclosure of Identity of Victims	0	0	0	0	0	0	0	0	0
31	Incidence of Rash Driving	193	6	199	14208	73	14281	9855	74	9929
32	Human Trafficking	0	0	0	5	2	7	7	2	9
33	Unnatural Offences	42	0	42	95	2	97	62	6	68
34	Other IPC crimes	1168	77	1245	44253	4624	48877	31752	3210	34962
	Total Cognizable IPC crimes	**6910**	**213**	**7123**	**157730**	**10680**	**168410**	**103625**	**10663**	114288

तक्ता क्र. ६९

सन २०१५ मध्ये भा.दं.वि. आणि विशेष व स्थानिक कायद्यांतर्गत शीर्षनिहाय अटक झालेल्या आरोपींचे लिंग व वयोगटानुसार वर्गीकरण

TABLE NO. 69

Persons Arrested Under IPC & SLL Crimes During - 2015 (Gender-Wise And Age Group-Wise)

S.No.	Crime Head	Below 18 Years			18 & Above and Below 30 years			30 & Above and Below 45 years		
		Male	Female	Total	Male	Female	Total	Male	Female	Total
1	2	3	4	5	6	7	8	9	10	11
CRIME HEAD:										
B. SLL - CRIMES										
1	Arms Act, 1959	16	0	16	1122	0	1122	489	3	492
2	Narcotic Drugs & Psychotropic Substances Act, 1985	30	1	31	13312	32	13344	5318	20	5338
3	Gambling Act, 1867	31	0	31	20320	12	20332	22389	55	22444
4	Excise Act, 1944	0	0	0	0	0	0	1	0	1
5	Prohibition Act	41	0	41	25281	912	26193	26557	2331	28888
6	Explosives and Explosive Substances Act	1	0	1	26	0	26	26	0	26
7	Immoral Traffic (Prevention) Act, 1956	0	1	1	228	223	451	185	214	399
7.1	Under Section 5	0	0	0	93	28	121	90	50	140
7.2	Under Section 6	0	0	0	21	9	30	5	6	11
7.3	Under Section 7	0	0	0	28	20	48	18	12	30
7.4	Under Section 8	0	0	0	35	119	154	12	68	80
7.5	Other Sections under ITP Act	0	1	1	51	47	98	60	78	138
8	Indian Railways Act, 1989	2	0	2	2	0	2	2	0	2
9	Registration of Foreigners Act, 1939	0	0	0	1	0	1	0	0	0
10	Protection of Civil Rights Act, 1955	0	0	0	2	1	3	5	2	7
10.1	PCR Act for crimes committed against SCs	0	0	0	2	1	3	5	2	7
10.2	PCR Act for crimes committed against STs	0	0	0	0	0	0	0	0	0
10.3	PCR Act for crimes committed against Others	0	0	0	0	0	0	0	0	0
11	Passport Act, 1967	1	0	1	92	25	117	60	10	70
12	Essential Commodities Act, 1955	2	0	2	349	1	350	522	20	542
13	Antiquities & Art Treasures Act, 1972	0	0	0	1	0	1	0	0	0
14	Dowry Prohibition Act, 1961	0	0	0	33	1	34	34	6	40
15	Indecent Representation of Women (Prohibition) Act, 1986	0	0	0	0	0	0	0	0	0
16	Copyright Act, 1957	4	0	4	284	0	284	207	1	208
17	Commission of Sati Prevention Act 1987	1	0	1	24	1	25	9	2	11
18	SC/ST (Prevention of Atrocities) Act, 1989)	5	2	7	168	13	181	190	18	208
18.1	POA Act for crimes committed against SCs	5	2	7	138	12	150	168	14	182
18.2	POA Act for crimes committed against STs	0	0	0	30	1	31	22	4	26
19	Forest Act, 1927	0	0	0	10	0	10	7	0	7
20	Prohibition of Child Marriage Act, 2006	0	0	0	20	3	23	24	12	36
21	Protection of Women from Domestic Violence Act, 2005	0	0	0	7	1	8	13	0	13
22	Information Technology Act, 2000	7	0	7	110	2	112	100	1	101
23	Official Secrets Act, 1923	0	0	0	0	0	0	0	0	0
24	Electricity Act, 2003	3	0	3	246	4	250	312	12	324
25	Wildlife Protection Act, 1972	0	0	0	35	0	35	21	0	21
26	Bonded Labour System (Abolition) Act, 1976	0	0	0	0	0	0	3	0	3
26.1	Against SCs	0	0	0	0	0	0	0	0	0
26.2	Against STs	0	0	0	0	0	0	0	0	0
26.3	Against others	0	0	0	0	0	0	3	0	3
27	Environmental (Protection) Act, 1986	0	0	0	36	0	36	31	0	31
28	Air (Prevention & Control of Pollution) Act, 1981	0	0	0	42	0	42	38	0	38
29	Water (Prevention & Control of Pollution) Act, 1974(as amended in 1988)	0	0	0	0	0	0	1	0	1
30	National Security Act, 1980	0	0	0	0	0	0	0	0	0
31	Unlawful Activities (Prevention) Act, 1967	0	0	0	0	0	0	0	0	0
32	Young Persons (Harmful Publications) Act, 1956	0	0	0	0	0	0	0	0	0
33	Railway Property (Unlawful Possession) Act, 1966	0	0	0	0	0	0	0	0	0
34	Prevention of Damage to Public Property Act, 1984	0	0	0	84	1	85	74	1	75
35	Transplantation of Human Organs Act, 1994	0	0	0	0	0	0	0	0	0
36	Trade Marks Act, 1999	0	0	0	4	0	4	3	0	3
37	Prevention of Insults to National Honour Act, 1971	0	0	0	3	0	3	8	1	9
38	State Emblem (Prohibition of Improper Use) Act, 2005	0	0	0	0	0	0	1	0	1
39	Lotteries (Regulation) Act, 1998	0	0	0	9	0	9	9	0	9
40	Citizenship Act, 1955	0	0	0	0	0	0	0	0	0
41	Foreigners Act, 1946	0	0	0	14	1	15	5	2	7
42	Place of Worship (Special Provisions) Act, 1991	0	0	0	0	0	0	0	0	0
43	Religious Institution (Prevention of Misuse) Act, 1988	0	0	0	0	0	0	0	0	0
44	Representation of People Act, 1951	0	0	0	11	0	11	9	0	9
45	Emigration Act, 1983	0	0	0	0	0	0	0	0	0
46	Juvenile Justice (Care and Protection of Children) Act, 2000	6	0	6	67	23	90	107	65	172
47	Infant Substitutes Regulation Act, 2003	0	0	0	0	0	0	0	0	0
48	Anti-Hijacking Act, 1982	0	0	0	0	0	0	0	0	0
49	Atomic Energy Act, 1962	0	0	0	0	0	0	0	0	0
50	Weapons of Mass Destruction (Proh. of Unlawful Activities) Act, 2005	0	0	0	0	0	0	0	0	0
51	Suppression of Unlawful Acts against Safety of Civil Aviation Act, 1982	0	0	0	0	0	0	0	0	0
52	Safety of Maritime Navigation Act, 2002	0	0	0	0	0	0	0	0	0
53	Manual Scavengers and Construction of Dry Latrines (P) Act, 1993	0	0	0	0	0	0	0	0	0
54	Pre-Natal Diagnostic Techniques (Reg and Prev of Misuse) Act, 1994	0	0	0	0	0	0	0	0	0
55	The Maritime Zones of India (Reg of Fishing by Foreign Vessels) Act, 1981	0	0	0	0	0	0	0	0	0
56	Other SLL crimes	93	0	93	20025	554	20579	16243	462	16705
	Total Cognizable SLL crimes	**243**	**4**	**247**	**81968**	**1810**	**83778**	**73003**	**3238**	**76241**
	Grand Total (A+B)	**7153**	**217**	**7370**	**239698**	**12490**	**252188**	**176628**	**13901**	**190529**

तक्ता क्र. ६९
सन २०१५ मध्ये भा.दं.वि. आणि विशेष व स्थानिक कायद्यांतर्गत शीर्षनिहाय अटक झालेल्या आरोपींचे लिंग व वयोगटानुसार वर्गीकरण

TABLE NO. 69

Persons Arrested Under IPC & SLL Crimes During - 2015 (Gender-Wise And Age Group-Wise)

S.No.	Crime Head	45 & Above and Below 60 years			60 years and above			Total of overall Age-Group		
		Male	Female	Total	Male	Female	Total	Male	Female	Total
1	2	12	13	14	15	16	17	18	19	20
CRIME HEAD:										
A. I P C - CRIMES										
1	Murder	712	98	810	80	21	101	4997	497	5494
2	Attempt to commit Murder	987	90	1077	173	18	191	8300	461	8761
3	Culpable Homicide not amounting to Murder	41	4	45	9	1	10	243	20	263
4	Attempt to commit Culpable Homicide	3	4	7	0	1	1	12	7	19
5	Rape	317	65	382	51	6	57	4874	314	5188
5.1	Custodial Rape	0	0	0	0	0	0	0	0	0
5.1.1	Gang Rape	0	0	0	0	0	0	0	0	0
5.1.2	Other Rape	0	0	0	0	0	0	0	0	0
5.2	Rape other than Custodial	317	65	382	51	6	57	4874	314	5188
5.2.1	Gang Rape	9	1	10	2	0	2	379	7	386
5.2.2	Other Rape	308	64	372	49	6	55	4495	307	4802
6	Attempt to commit Rape	0	0	0	0	0	0	14	0	14
7	Kidnapping & Abduction_Total	307	36	343	15	6	21	4146	277	4423
7.1	Kidnapping & Abduction	151	15	166	4	3	7	2080	100	2180
7.2	Kidnaping & Abduction in order to Murder	0	0	0	0	0	0	41	2	43
7.3	Kidnapping for Ransom	7	0	7	2	0	2	94	2	96
7.4	Kidnapping & Abduction of Women to compel her for marriage	73	13	86	5	3	8	1193	112	1305
7.5	Other Kidnapping	76	8	84	4	0	4	738	61	799
8	Dacoity	306	12	318	35	4	39	3647	96	3743
8.1	Dacoity with Murder	0	0	0	0	0	0	58	0	58
8.2	Other Dacoity	306	12	318	35	4	39	3589	96	3685
9	Making Preparation and Assembly for committing Dacoity	64	1	65	2	0	2	1375	12	1387
10	Robbery	451	21	472	25	3	28	9347	168	9515
11	Criminal Trespass/Burglary_Total	673	18	691	19	2	21	10852	234	11086
11.1	Criminal Trespass/Burglary	515	14	529	14	2	16	8409	151	8560
11.2	House Trespass & House Breaking	158	4	162	5	0	5	2443	83	2526
12	Theft	2555	115	2670	212	16	228	31020	1083	32103
12.1	Auto Theft	437	0	437	42	0	42	8060	12	8072
12.2	Other Thefts	2118	115	2233	170	16	186	22960	1071	24031
13	Unlawful Assembly	1011	151	1162	195	35	230	6126	814	6940
14	Riots	6029	760	6789	1139	171	1310	41364	4423	45787
14.1	Communal	140	9	149	17	1	18	975	53	1028
14.2	Industrial	150	0	150	0	0	0	363	19	382
14.3	Political	138	8	146	30	3	33	673	38	711
14.4	Caste Conflict	219	11	230	36	3	39	1118	97	1215
14.4.1	SC/STs Vs. Non-SCs/STs	82	6	88	27	1	28	642	42	684
14.4.2	Other Caste Riots	137	5	142	9	2	11	476	55	531
14.5	Agrarian	63	5	68	5	2	7	466	49	515
14.6	Students	0	0	0	0	0	0	0	0	0
14.7	Sectarian	0	0	0	0	0	0	0	0	0
14.8	Other Riots	5319	727	6046	1051	162	1213	37769	4167	41936
15	Criminal Breach of Trust	402	18	420	46	5	51	2353	107	2460
16	Cheating	1870	150	2020	290	32	322	9697	730	10427
17	Forgery	196	20	216	34	7	41	1057	99	1156
18	Counterfeiting	12	1	13	0	0	0	143	16	159
18.1	Offences related to Counterfeit Coin	0	0	0	0	0	0	0	0	0
18.2	Counterfeiting Government Stamp	0	0	0	0	0	0	0	0	0
18.3	Counterfeit currency & Bank notes	12	1	13	0	0	0	143	16	159
18.3.1	Counterfeiting currency notes or Bank notes	1	0	1	0	0	0	54	1	55
18.3.2	Using forged or counterfeit currency/Bank notes	10	0	10	0	0	0	67	10	77
18.3.3	Possession of forged or counterfeiting currency / Bank notes	1	1	2	0	0	0	22	5	27
18.3.4	Make/Possess materials for forging or counterfeiting currency/Bank notes	0	0	0	0	0	0	0	0	0
18.3.5	Make/Use documents resembling currency notes/Bank notes	0	0	0	0	0	0	0	0	0
19	Arson	149	9	158	20	1	21	1203	43	1246
20	Grievous Hurt	1797	171	1968	286	24	310	14149	1070	15219
20.1	Grievous Hurt	1797	171	1968	286	24	310	14143	1068	15211
20.2	Acid attack	0	0	0	0	0	0	5	2	7
20.3	Attempt to Acid Attack	0	0	0	0	0	0	1	0	1
21	Dowry Deaths	99	79	178	25	16	41	528	260	788
22	Assault on women with intent to outrage her Modesty	1174	86	1260	147	10	157	13175	500	13675
22.1	Sexual Harassment	507	30	537	68	3	71	5486	181	5667
22.2	Assault on women with intent to Disrobe	39	3	42	4	0	4	528	32	560
22.3	Voyeurism	1	1	2	3	0	3	140	6	146
22.4	Stalking	72	2	74	8	0	8	1382	14	1396
22.5	Others	555	50	605	64	7	71	5639	267	5906
23	Insult to the Modesty of Women	110	8	118	20	2	22	1153	37	1190
23.1	At Office premises	3	0	3	0	0	0	26	0	26
23.2	Places related to work other than Office	23	2	25	4	0	4	199	9	208
23.3	In Public Transport system	5	0	5	1	0	1	37	1	38
23.4	in Other Places	79	6	85	15	2	17	891	27	918
24	Cruelty by Husband or his Relatives	2608	2090	4698	799	452	1251	13167	6962	20129
25	Importation of Girls from Foreign Country	0	0	0	0	0	0	0	0	0
26	Causing Death by Negligence	1264	6	1270	93	2	95	9155	46	9201
26.1	Deaths due to negligent driving/act	1166	5	1171	79	0	79	8572	31	8603
26.2	Deaths due to Other Causes	98	1	99	14	2	16	583	15	598
27	Offences against State	0	0	0	0	0	0	0	0	0
27.1	Sedition	0	0	0	0	0	0	0	0	0
27.2	Other offences against State	0	0	0	0	0	0	0	0	0
28	Offences promoting enmity between different groups	83	18	101	4	0	4	212	20	232
28.1	Promoting enmity on ground of religion race and place of Birth	83	18	101	4	0	4	209	20	229
28.2	Imputation & assertions prejudicial to national integration	0	0	0	0	0	0	3	0	3
29	Extortion	133	11	144	22	1	23	1410	62	1472
30	Disclosure of Identity of Victims	0	0	0	0	0	0	0	0	0
31	Incidence of Rash Driving	3190	18	3208	266	1	267	27712	172	27884
32	Human Trafficking	4	3	7	0	1	1	16	8	24
33	Unnatural Offences	6	2	8	3	0	3	208	10	218
34	Other IPC crimes	13420	1219	14639	2371	222	2593	92964	9352	102316
	Total Cognizable IPC crimes	**39973**	**5284**	**45257**	**6381**	**1060**	**7441**	**314619**	**27900**	**342519**

तक्ता क्र. ६९

सन २०१५ मध्ये भा.दं.वि. आणि विशेष व स्थानिक कायद्यांतर्गत शीर्षनिहाय अटक झालेल्या आरोपींचे लिंग व वयोगटानुसार वर्गीकरण

TABLE NO. 69

Persons Arrested Under IPC & SLL Crimes During - 2015 (Gender-Wise And Age Group-Wise)

S.No.	Crime Head	45 & Above and Below 60 years			60 years and above			Total of overall Age-Group		
		Male	Female	Total	Male	Female	Total	Male	Female	Total
1	2	12	13	14	15	16	17	18	19	20
CRIME HEAD:										
B. SLL - CRIMES										
1	Arms Act, 1959	54	2	56	4	0	4	1685	5	1690
2	Narcotic Drugs & Psychotropic Substances Act, 1985	1154	20	1174	101	8	109	19915	81	19996
3	Gambling Act, 1867	9275	30	9305	1410	3	1413	53425	100	53525
4	Excise Act, 1944	1	0	1	0	0	0	2	0	2
5	Prohibition Act	10907	1513	12420	1217	241	1458	64003	4997	69000
6	Explosives and Explosive Substances Act	6	0	6	0	0	0	59	0	59
7	Immoral Traffic (Prevention) Act, 1956	28	34	62	4	1	5	445	473	918
7.1	Under Section 5	18	5	23	3	1	4	204	84	288
7.2	Under Section 6	1	1	2	0	0	0	27	16	43
7.3	Under Section 7	2	4	6	0	0	0	48	36	84
7.4	Under Section 8	0	18	18	0	0	0	47	205	252
7.5	Other Sections under ITP Act	7	6	13	1	0	1	119	132	251
8	Indian Railways Act, 1989	0	0	0	0	0	0	6	0	6
9	Registration of Foreigners Act, 1939	0	0	0	0	0	0	1	0	1
10	Protection of Civil Rights Act, 1955	0	1	1	0	0	0	7	4	11
10.1	PCR Act for crimes committed against SCs	0	1	1	0	0	0	7	4	11
10.2	PCR Act for crimes committed against STs	0	0	0	0	0	0	0	0	0
10.3	PCR Act for crimes committed against Others	0	0	0	0	0	0	0	0	0
11	Passport Act, 1967	13	5	18	0	0	0	166	40	206
12	Essential Commodities Act, 1955	187	8	195	19	0	19	1079	29	1108
13	Antiquities & Art Treasures Act, 1972	2	0	2	0	0	0	3	0	3
14	Dowry Prohibition Act, 1961	21	4	25	4	0	4	92	11	103
15	Indecent Representation of Women (Prohibition) Act, 1986	0	0	0	0	0	0	0	0	0
16	Copyright Act, 1957	48	0	48	8	0	8	551	1	552
17	Commission of Sati Prevention Act 1987	2	0	2	0	0	0	36	3	39
18	SC/ST (Prevention of Atrocities) Act, 1989)	70	7	77	11	0	11	444	40	484
18.1	POA Act for crimes committed against SCs	58	7	65	10	0	10	379	35	414
18.2	POA Act for crimes committed against STs	12	0	12	1	0	1	65	5	70
19	Forest Act, 1927	2	0	2	0	0	0	19	0	19
20	Prohibition of Child Marriage Act, 2006	14	1	15	4	0	4	62	16	78
21	Protection of Women from Domestic Violence Act, 2005	2	1	3	0	0	0	22	2	24
22	Information Technology Act, 2000	15	1	16	0	0	0	232	4	236
23	Official Secrets Act, 1923	0	0	0	0	0	0	0	0	0
24	Electricity Act, 2003	118	8	126	14	2	16	693	26	719
25	Wildlife Protection Act, 1972	7	0	7	2	0	2	65	0	65
26	Bonded Labour System (Abolition) Act, 1976	1	0	1	0	0	0	4	0	4
26.1	Against SCs	0	0	0	0	0	0	0	0	0
26.2	Against STs	0	0	0	0	0	0	0	0	0
26.3	Against others	1	0	1	0	0	0	4	0	4
27	Environmental (Protection) Act, 1986	12	0	12	0	0	0	79	0	79
28	Air (Prevention & Control of Pollution) Act, 1981	0	0	0	0	0	0	80	0	80
29	Water (Prevention & Control of Pollution) Act, 1974(as amended in 1988)	0	0	0	0	0	0	1	0	1
30	National Security Act, 1980	1	0	1	0	0	0	1	0	1
31	Unlawful Activities (Prevention) Act, 1967	0	0	0	0	0	0	0	0	0
32	Young Persons (Harmful Publications) Act, 1956	0	0	0	0	0	0	0	0	0
33	Railway Property (Unlawful Possession) Act, 1966	0	0	0	0	0	0	0	0	0
34	Prevention of Damage to Public Property Act, 1984	19	0	19	0	0	0	177	2	179
35	Transplantation of Human Organs Act, 1994	0	0	0	0	0	0	0	0	0
36	Trade Marks Act, 1999	0	0	0	0	0	0	7	0	7
37	Prevention of Insults to National Honour Act, 1971	1	0	1	0	0	0	12	1	13
38	State Emblem (Prohibition of Improper Use) Act, 2005	0	0	0	0	0	0	1	0	1
39	Lotteries (Regulation) Act, 1998	7	0	7	2	0	2	27	0	27
40	Citizenship Act, 1955	0	0	0	0	0	0	0	0	0
41	Foreigners Act, 1946	1	0	1	0	0	0	20	3	23
42	Place of Worship (Special Provisions) Act, 1991	0	0	0	0	0	0	0	0	0
43	Religious Institution (Prevention of Misuse) Act, 1988	0	0	0	0	0	0	0	0	0
44	Representation of People Act, 1951	3	0	3	0	0	0	23	0	23
45	Emigration Act, 1983	0	0	0	0	0	0	0	0	0
46	Juvenile Justice (Care and Protection of Children) Act, 2000	24	8	32	1	1	2	205	97	302
47	Infant Substitutes Regulation Act, 2003	0	0	0	0	0	0	0	0	0
48	Anti-Hijacking Act, 1982	0	0	0	0	0	0	0	0	0
49	Atomic Energy Act, 1962	0	0	0	0	0	0	0	0	0
50	Weapons of Mass Destruction (Proh. of Unlawful Activities) Act, 2005	0	0	0	0	0	0	0	0	0
51	Suppression of Unlawful Acts against Safety of Civil Aviation Act, 1982	0	0	0	0	0	0	0	0	0
52	Safety of Maritime Navigation Act, 2002	0	0	0	0	0	0	0	0	0
53	Manual Scavengers and Construction of Dry Latrines (P) Act, 1993	0	0	0	0	0	0	0	0	0
54	Pre-Natal Diagnostic Techniques (Reg and Prev of Misuse) Act, 1994	0	0	0	0	0	0	0	0	0
55	The Maritime Zones of India (Reg of Fishing by Foreign Vessels) Act, 1981	0	0	0	0	0	0	0	0	0
56	Other SLL crimes	5877	181	6058	381	19	400	42619	1216	43835
	Total Cognizable SLL crimes	**27872**	**1824**	**29696**	**3182**	**275**	**3457**	**186268**	**7151**	**193419**
	Grand Total (A+B)	**67845**	**7108**	**74953**	**9563**	**1335**	**10898**	**500887**	**35051**	**535938**

तक्ता क्र. ७०

सन २०११ ते २०१५ मध्ये भा.दं.वि. आणि विशेष व स्थानिक कायद्यांतर्गत शीर्ष-निहाय एका गुन्ह्यात अटक झालेल्या आरोपींचे प्रमाण

TABLE NO. 70

Persons Arrested Per Case Under IPC And SLL Crimes - 2011 To 2015

Sr. No.	Crime Head	2011	2012	2013	2014	2015
1	2	4	5	6	7	8
A. IPC CRIMES						
1	Murder	2.2	2.3	2.2	2.2	2.2
2	Attempt to commit Murder	4.0	3.6	3.3	3.3	3.3
3	Culpable Homicide not amounting to Murder	2.2	2.1	2.2	1.7	1.7
4	Attempt to commit Culpable Homicide	-	-	-	3.1	1.6
5	Rape	1.5	1.4	1.4	1.3	1.3
6	Attempt to commit Rape	-	-	-	1.3	1.1
7	Kidnapping & Abduction	1.7	1.7	1.2	0.9	0.5
8	Dacoity	4.9	5.1	4.7	5	4.8
9	Making Preparation and Assembly for committing Dacoity	4.9	4.9	5.0	4.9	5.0
10	Robbery	1.4	1.2	1.0	1.1	1.1
11	Criminal Trespass/Burglary	0.8	0.9	0.8	0.7	0.7
12	Theft	0.6	0.6	0.6	0.6	0.5
13	Unlawful Assembly	-	-	-	7.8	7.6
14	Riots	6.4	6.5	6.1	6.2	5.5
15	Criminal Breach of Trust	1.5	1.4	1.3	1.3	1.2
16	Cheating	1.2	1.2	1.3	1.1	1.0
17	Forgery	-	-	-	0.9	1.1
18	Counterfeiting	0.7	0.9	0.9	1.1	0.8
19	Arson	1.2	1.3	1.3	1.1	1.0
20	Grievous Hurt	2.0	2.0	1.9	2.1	1.9
21	Dowry Deaths	3.7	3.5	3.7	3.4	2.9
22	Assault on women with intent to outrage her Modesty	1.2	1.2	1.2	1.3	1.2
23	Insult to the Modesty of Women	1.2	1.2	1.2	1.2	1.1
24	Cruelty by Husband or his Relatives	3.7	3.7	3.7	3.2	2.6
25	Importation of Girls from Foreign Country	0.0	0.0	0.0	2	0.0
26	Causing Death by Negligence	0.7	0.7	0.7	0.8	0.7
27	Offences against State	-	-	-	0	0.0
28	Offences promoting enmity between different groups	-	-	-	6.2	6.6
29	Extortion	-	-	-	1.5	1.5
30	Disclosure of Identity of Victims	-	-	-		0.0
31	Incidence of Rash Driving	-	-	-	0.9	0.9
32	Human Trafficking	-	-	-	2.8	3.4
33	Unnatural Offences	-	-	-	1	1.4
34	Other IPC crimes	1.3	1.3	1.3	1.5	1.4
35	Total Cognizable IPC crimes	**1.5**	**1.5**	**1.5**	**1.4**	1.2

तक्ता क्र. ७०

सन २०११ ते २०१५ मध्ये भा.दं.वि. आणि विशेष व स्थानिक कायद्यांतर्गत शीर्ष-निहाय एका गुन्ह्यात अटक झालेल्या आरोपींचे प्रमाण

TABLE NO. 70

Persons Arrested Per Case Under IPC And SLL Crimes - 2011 To 2015

Sr. No.	Crime Head	2011	2012	2013	2014	2015
1	2	4	5	6	7	8
B. SLL CRIMES						
1	Arms Act, 1959	1.3	1.3	1.4	1.3	1.3
2	Narcotic Drugs & Psychotropic Substances Act, 1985	1.7	2.5	2.2	1.1	1.0
3	Gambling Act, 1867	3.1	3.1	2.9	2.7	2.7
4	Excise Act, 1944	0	0	0	0	0.0
5	Prohibition Act	1.1	1.1	1.0	1.1	1.1
6	Explosives and Explosive Substances Act	2.8	1.8	1.9	1.6	0.7
7	Immoral Traffic (Prevention) Act, 1956	3.6	4.4	3.3	2.8	2.3
8	Indian Railways Act, 1989	0.6	0.1	0.5	0.3	0.2
9	Registration of Foreigners Act, 1939	1.3	2.0	1.2	1.4	1.0
10	Protection of Civil Rights Act, 1955	17.9	1.2	1.5	3.2	0.6
11	Passport Act, 1967	6.4	5.4	5.5	2.5	3.7
12	Essential Commodities Act, 1955	1.6	1.7	1.7	1.6	1.5
13	Antiquities & Art Treasures Act, 1972	3.5	2.3	0	1	3.0
14	Dowry Prohibition Act, 1961	3.9	3.2	2.8	1.8	2.5
15	Indecent Representation of Women (Prohibition) Act, 1986	1.0	1.0	0.0	0	0.0
16	Copyright Act, 1957	1.6	1.6	1.6	1.5	1.5
17	Commission of Sati Prevention Act 1987	0	0	0	0	1.5
18	SC/ST (Prevention of Atrocities) Act, 1989)	1.9	2.1	1.8	1.5	1.4
19	Forest Act, 1927	3.4	2.2	2.2	1.6	1.1
20	Prohibition of Child Marriage Act, 2006	5.8	2.2	6.6	5.1	3.3
21	Protection of Women from Domestic Violence Act, 2005	-	-	-	1.5	3.0
22	Information Technology Act, 2000	-	-	-	0.5	0.7
23	Official Secrets Act, 1923	-	-	-	1	0.0
24	Electricity Act, 2003	-	-	-	0.5	0.7
25	Wildlife Protection Act, 1972	-	-	-	2.6	3.3
26	Bonded Labour System (Abolition) Act, 1976	-	-	-	7.5	0.8
27	Environmental (Protection) Act, 1986	-	-	-	1	1.7
28	Air (Prevention & Control of Pollution) Act, 1981	-	-	-	6.4	1.9
29	Water (Prevention & Control of Pollution) Act, 1974(as amended in 1988)	-	-	-	1	1.0
30	National Security Act, 1980	-	-	-	0	1.0
31	Unlawful Activities (Prevention) Act, 1967	-	-	-	0	0.0
32	Young Persons (Harmful Publications) Act, 1956	-	-	-	0	0.0
33	Railway Property (Unlawful Possession) Act, 1966	-	-	-	0	0.0
34	Prevention of Damage to Public Property Act, 1984	-	-	-	0.9	1.1
35	Transplantation of Human Organs Act, 1994	**-**	**-**	**-**	**0**	0.0
36	Trade Marks Act, 1999	-	-	-	0.7	2.3
37	Prevention of Insults to National Honour Act, 1971	-	-	-	1.1	1.2
38	State Emblem (Prohibition of Improper Use) Act, 2005	-	-	-	0.0	1.0
39	Lotteries (Regulation) Act, 1998	-	-	-	2.0	1.6
40	Citizenship Act, 1955	-	-	-		0.0
41	Foreigners Act, 1946	-	-	-	0.9	1.3
42	Place of Worship (Special Provisions) Act, 1991	-	-	-	0.0	0.0
43	Religious Institution (Prevention of Misuse) Act, 1988	-	-	-	1.0	0.0
44	Representation of People Act, 1951	-	-	-	1.9	1.2
45	Emigration Act, 1983	-	-	-	0.0	0.0
46	Juvenile Justice (Care and Protection of Children) Act, 2000	-	-	-	3.2	1.2
47	Infant Substitutes Regulation Act, 2003	-	-	-	0.0	0.0
48	Anti-Hijacking Act, 1982	-	-	-	0.0	0.0
49	Atomic Energy Act, 1962	-	-	-	1.0	0.0
50	Weapons of Mass Destruction (Proh. of Unlawful Activities) Act, 2005	-	-	-	0.0	0.0
51	Suppression of Unlawful Acts against Safety of Civil Aviation Act, 1982	-	-	-	0.0	0.0
52	Safety of Maritime Navigation Act, 2002	-	-	-	0.0	0.0
53	Manual Scavengers and Construction of Dry Latrines (P) Act, 1993	-	-	-	0.0	0.0
54	Pre-Natal Diagnostic Techniques (Reg and Prev of Misuse) Act, 1994	-	-	-	1.0	0.0
55	The Maritime Zones of India (Reg of Fishing by Foreign Vessels) Act, 1981	-	-	-	0.0	0.0
56	Other SLL crimes	1.2	1.2	1.2	1.1	1.1
57	**Total Cognizable SLL crimes**	**1.3**	**1.4**	**1.4**	**1.3**	**1.3**
	GRAND TOTAL (A+B)	**1.4**	**1.5**	**1.5**	**1.3**	2.6

तक्ता क्र. ७१

सन २०१५ मध्ये भा.दं.वि. च्या गुन्हयांतर्गत अटक झालेल्या आरोपींची पोलीसांनी केलेली निर्गती गुन्हे शीर्ष-निहाय

TABLE NO. 71

Disposal Of Persons Arrested Under IPC Crimes By Police During 2015

Sr. No.	Crime Head	Persons in custody during the stage of investigation at the beginning of the year		Persons on bail during the stage of investigation at the beginning of the year		Total col. 3+5=7 and Col. 4+6 = 8		Persons arrested during the year	
		Male	Female	Male	Female	Male	Female	Male	Female
1	2	3	4	5	6	7	8	9	10
CRIME HEAD:									
1	Murder	678	50	1066	143	1744	193	4997	497
2	Attempt to commit Murder	699	24	2944	217	3643	241	8300	461
3	Culpable Homicide not amounting to Murder	42	1	184	10	226	11	243	20
4	Attempt to commit Culpable Homicide	10	9	8	0	18	9	12	7
5	Rape	585	15	1167	75	1752	90	4874	314
5.1	Custodial Rape	0	0	0	0	0	0	0	0
5.1.1	Gang Rape	0	0	0	0	0	0	0	0
5.1.2	Other Rape	0	0	0	0	0	0	0	0
5.2	Rape other than Custodial	585	15	1167	57	1752	72	4874	314
5.2.1	Gang Rape	33	0	74	6	107	6	379	7
5.2.2	Other Rape	552	15	1093	69	1645	84	4495	307
6	Attempt to commit Rape	3	2	4	0	7	2	14	0
7	Kidnapping & Abduction_Total	230	16	1846	168	2076	184	4146	277
7.1	Kidnapping & Abduction	158	13	669	75	827	88	2080	100
7.2	Kidnaping & Abduction in order to Murder	1	0	14	0	15	0	41	2
7.3	Kidnapping for Ransom	3	0	30	2	33	2	94	2
7.4	Kidnapping & Abduction of Women to compel her for marriage	31	1	646	60	677	61	1193	112
7.5	Other Kidnapping	37	2	487	31	524	33	738	61
8	Dacoity	354	3	1646	64	2000	67	3647	96
8.1	Dacoity with Murder	8	0	11	4	19	4	58	0
8.2	Other Dacoity	346	3	1635	60	1981	63	3589	96
9	Making Preparation and Assembly for committing Dacoity	99	2	551	6	650	8	1375	12
10	Robbery	1037	6	3470	63	4507	69	9347	168
11	Criminal Trespass/Burglary_Total	1348	8	4765	131	6113	139	10852	234
11.1	Criminal Trespass/Burglary	941	5	3375	95	4316	100	8409	151
11.2	House Trespass & House Breaking	407	3	1390	36	1797	39	2443	83
12	Theft	3626	54	12921	536	16547	590	31020	1083
12.1	Auto Theft	944	0	3393	30	4337	30	8060	12
12.2	Other Thefts	2682	54	9528	506	12210	560	22960	1071
13	Unlawful Assembly	299	20	2807	320	3106	340	6126	814
14	Riots	611	86	14614	1990	15225	2076	41364	4423
14.1	Communal	0	0	388	3	388	3	975	53
14.2	Industrial	0	0	51	0	51	0	363	19
14.3	Political	0	0	321	15	321	15	673	38
14.4	Caste Conflict	0	0	760	10	760	10	1118	97
14.4.1	SC/STs Vs. Non-SCs/STs	0	0	151	4	151	4	642	42
14.4.2	Other Caste Riots	0	0	609	6	609	6	476	55
14.5	Agrarian	0	0	203	4	203	4	466	49
14.6	Students	6	0	0	0	6	0	0	0
14.7	Sectarian	0	0	0	0	0	0	0	0
14.8	Other Riots	605	86	12891	1958	13496	2044	37769	4167
15	Criminal Breach of Trust	229	4	1541	54	1770	58	2353	107
16	Cheating	1139	8	7050	373	8189	381	9697	730
17	Forgery	145	1	507	30	652	31	1057	99

तक्ता क्र. ७१

सन २०१५ मध्ये भा.दं.वि. च्या गुन्हयांतर्गत अटक झालेल्या आरोपींची पोलीसांनी केलेली निर्गती गुन्हे शीर्ष-निहाय

TABLE NO. 71

Disposal Of Persons Arrested Under IPC Crimes By Police During 2015

Sr. No.	Crime Head	Persons in custody during the stage of investigation at the beginning of the year		Persons on bail during the stage of investigation at the beginning of the year		Total col. 3+5=7 and Col. 4+6 = 8		Persons arrested during the year	
		Male	Female	Male	Female	Male	Female	Male	Female
1	2	3	4	5	6	7	8	9	10
CRIME HEAD:									
18	Counterfeiting	16	2	190	3	206	5	143	16
18.1	Offences related to Counterfeit Coin	10	0	2	0	12	0	0	0
18.2	Counterfeiting Government Stamp	0	0	0	0	0	0	0	0
18.3	Counterfeit currency & Bank notes	6	2	118	3	124	5	143	16
18.3.1	Counterfeiting currency notes or Bank notes	4	1	129	3	133	4	54	1
18.3.2	Using forged or counterfeit currency/Bank notes	0	0	48	0	48	0	67	10
18.3.3	Possession of forged or counterfeiting currency / Bank notes	2	1	11	0	13	1	22	5
18.3.4	Make/Possess materials for forging or counterfeiting currency/Bank notes	0	0	0	0	0	0	0	0
18.3.5	Make/Use documents resembling currency notes/Bank notes	0	0	0	0	0	0	0	0
19	Arson	29	0	614	16	643	16	1203	43
20	Grievous Hurt	1510	48	8343	607	9853	655	14149	1070
20.1	Grievous Hurt	1510	48	8342	607	9852	655	14143	1068
20.2	Acid attack	0	0	1	0	1	0	5	2
20.3	Attempt to Acid Attack	0	0	0		0	0	1	0
21	Dowry Deaths	63	9	211	78	274	87	528	260
22	Assault on women with intent to outrage her Modesty	427	10	3860	119	4287	129	13175	500
22.1	Sexual Harassment	236	5	1507	29	1743	34	5486	181
22.2	Assault on women with intent to Disrobe	10	1	133	5	143	6	528	32
22.3	Voyeurism	0	0	31	0	31	0	140	6
22.4	Stalking	21	0	275	1	296	1	1382	14
22.5	Others	160	4	1914	84	2074	88	5639	267
23	Insult to the Modesty of Women	81	0	667	42	748	42	1153	37
23.1	At Office premises	3	0	3	0	6	0	26	0
23.2	Places related to work other than Office	5	0	4	0	9	0	199	9
23.3	In Public Transport system	0	0	4	0	4	0	37	1
23.4	in Other Places	73	0	656	42	729	42	891	27
24	Cruelty by Husband or his Relatives	428	104	5236	2649	5664	2753	13167	6962
25	Importation of Girls from Foreign Country	0	0	0	0	0	0	0	0
26	Causing Death by Negligence	479	2	3352	11	3831	13	9155	46
26.1	Deaths due to negligent driving/act	454	1	337	9	791	10	8572	31
26.2	Deaths due to Other Causes	25	1	315	2	340	3	583	15
27	Offences against State	0	0	0	0	0	0	0	0
27.1	Sedition	0	0	0	0	0	0	0	0
27.2	Other offences against State	0	0	0	0	0	0	0	0
28	Offences promoting enmity between different groups	3	0	210	1	213	1	212	20
28.1	Promoting enmity on ground of religion race and place of Birth	2	0	210	1	212	1	209	20
28.2	Imputation & assertions prejudicial to national integration	1	0	0	0	1	0	3	0
29	Extortion	67	8	504	16	571	24	1410	62
30	Disclosure of Identity of Victims	0	0	0	0	0	0	0	0
31	Incidence of Rash Driving	304	2	6909	78	7213	80	27712	172
32	Human Trafficking	33	1	131	69	164	70	16	8
33	Unnatural Offences	2	0	25	0	27	0	208	10
34	Other IPC crimes	3299	258	26330	3302	29629	3560	92964	9352
`	**Total Cognizable IPC crimes**	**17875**	**753**	**113673**	**11171**	**131548**	**11924**	**314619**	**27900**

तक्ता क्र. ७१

सन २०१५ मध्ये भा.दं.वि. च्या गुन्हयांतर्गत अटक झालेल्या आरोपींची पोलीसांनी केलेली निर्गती गुन्हे शीर्ष-निहाय

TABLE NO. 71

Disposal Of Persons Arrested Under IPC Crimes By Police During 2015

Sr. No.	Crime Head	Persons released or freed by Police or Magistrate before trial for want of evidence or any other reason		Number of Persons charge sheeted during the year		Persons in custody during the stage of investigation at the end of the year		Persons on bail during the stage of investigation at the end of the year		Persons Charge Sheeted ((Col. 13+14)/(Col.7+8+9+10))*100
		Male	Female	Male	Female	Male	Female	Male	Female	% To Total
1	2	11	12	13	14	15	16	17	18	19
CRIME HEAD:										
1	Murder	47	5	4739	478	821	58	1134	149	70.2
2	Attempt to commit Murder	51	3	7725	465	976	33	3191	201	64.8
3	Culpable Homicide not amounting to Murder	4	0	228	12	50	3	187	16	48.0
4	Attempt to commit Culpable Homicide	0	0	25	14	1	0	4	2	84.8
5	Rape	35	4	4298	254	869	39	1424	107	64.8
5.1	Custodial Rape	0	0	0	0	0	0	0	0	-
5.1.1	Gang Rape	0	0	0	0	0	0	0	0	-
5.1.2	Other Rape	0	0	0	0	0	0	0	0	-
5.2	Rape other than Custodial	35	4	4298	254	869	39	1424	107	64.9
5.2.1	Gang Rape	3	0	343	11	53	0	87	2	70.9
5.2.2	Other Rape	32	4	3955	243	816	39	1337	105	64.3
6	Attempt to commit Rape	0	0	19	2	0	0	2	0	91.3
7	Kidnapping & Abduction_Total	120	11	3192	255	332	27	2578	168	51.6
7.1	Kidnapping & Abduction	84	6	1356	86	225	20	1242	76	46.6
7.2	Kidnaping & Abduction in order to Murder	2	0	27	2	4	0	23	0	50.0
7.3	Kidnapping for Ransom	0	0	81	3	4	0	42	1	64.1
7.4	Kidnapping & Abduction of Women to compel her for marriage	25	3	998	108	59	1	788	61	54.1
7.5	Other Kidnapping	9	2	730	56	40	6	483	30	58.0
8	Dacoity	60	0	3401	104	433	19	1753	40	60.3
8.1	Dacoity with Murder	0	0	53	4	16	0	8	0	70.4
8.2	Other Dacoity	60	0	3348	100	417	19	1745	40	60.2
9	Making Preparation and Assembly for committing Dacoity	0	0	1196	7	151	0	678	13	58.8
10	Robbery	321	7	8734	152	1319	10	3480	68	63.1
11	Criminal Trespass/Burglary_Total	484	10	9200	212	1437	31	5844	120	54.3
11.1	Criminal Trespass/Burglary	341	6	6959	140	1105	25	4320	80	54.7
11.2	House Trespass & House Breaking	143	4	2241	72	332	6	1524	40	53.0
12	Theft	1049	29	26927	988	3030	78	16561	578	56.7
12.1	Auto Theft	273	0	6290	40	797	0	5037	2	50.9
12.2	Other Thefts	776	29	20637	948	2233	78	11524	576	58.7
13	Unlawful Assembly	225	19	5659	803	283	12	3065	320	62.2
14	Riots	107	10	38200	4326	2012	241	16270	1922	67.4
14.1	Communal	2	0	893	20	0	0	468	36	64.3
14.2	Industrial	33	0	353	19	13	0	15	0	85.9
14.3	Political	11	2	691	36	9	1	283	14	69.4
14.4	Caste Conflict	6	3	1577	75	8	0	287	29	83.2
14.4.1	SC/STs Vs. Non-SCs/STs	3	0	557	37	8	0	225	9	70.8
14.4.2	Other Caste Riots	3	3	1020	38	0	0	62	20	92.3
14.5	Agrarian	0	0	559	49	0	0	110	4	84.2
14.6	Students	0	0	6	0	0	0	0	0	100.0
14.7	Sectarian	0	0	0	0	0	0	0	0	-
14.8	Other Riots	55	5	34121	4127	1982	240	15107	1839	66.5
15	Criminal Breach of Trust	9	1	2304	82	301	16	1509	66	55.6
16	Cheating	90	2	8857	543	1010	65	7929	501	49.5
17	Forgery	5	0	822	46	193	11	689	73	47.2

तक्ता क्र. ७१

सन २०१५ मध्ये भा.दं.वि. च्या गुन्हयांतर्गत अटक झालेल्या आरोपींची पोलीसांनी केलेली निर्गती गुन्हे शीर्ष-निहाय

TABLE NO. 71

Disposal Of Persons Arrested Under IPC Crimes By Police During 2015

Sr. No.	Crime Head	Persons released or freed by Police or Magistrate before trial for want of evidence or any other reason		Number of Persons charge sheeted during the year		Persons in custody during the stage of investigation at the end of the year		Persons on bail during the stage of investigation at the end of the year		Persons Charge Sheeted ((Col. 13+14)/(Col.7+8+9+10))*100
		Male	Female	Male	Female	Male	Female	Male	Female	% To Total
1	2	11	12	13	14	15	16	17	18	19
CRIME HEAD:										
18	Counterfeiting	7	0	196	17	24	0	122	4	57.6
18.1	Offences related to Counterfeit Coin	0	0	7	0	1	0	4	0	58.3
18.2	Counterfeiting Government Stamp	0	0	0	0	0	0	0	0	-
18.3	Counterfeit currency & Bank notes	7	0	189	17	23	0	118	4	71.5
18.3.1	Counterfeiting currency notes or Bank notes	7	0	108	4	2	0	70	1	58.3
18.3.2	Using forged or counterfeit currency/Bank notes	0	0	60	10	14	0	41	0	56.0
18.3.3	Possession of forged or counterfeiting currency / Bank notes	0	0	21	3	7	0	7	3	58.5
18.3.4	Make/Possess materials for forging or counterfeiting currency/Bank notes	0	0	0	0	0	0	0	0	-
18.3.5	Make/Use documents resembling currency notes/Bank notes	0	0	0	0	0	0	0	0	-
19	Arson	26	0	1191	42	47	0	582	17	64.7
20	Grievous Hurt	145	17	12441	1019	3045	87	8371	602	52.3
20.1	Grievous Hurt	145	17	12435	1017	3045	87	8370	602	52.3
20.2	Acid attack	0	0	5	2	0	0	1	0	87.5
20.3	Attempt to Acid Attack	0	0	1	0	0	0	0	0	100.0
21	Dowry Deaths	5	1	514	225	54	10	229	111	64.3
22	Assault on women with intent to outrage her Modesty	34	8	11367	387	1007	59	5054	175	65.0
22.1	Sexual Harassment	24	4	4796	148	483	19	1926	44	66.4
22.2	Assault on women with intent to Disrobe	3	4	435	22	32	4	201	8	64.5
22.3	Voyeurism	0	0	107	4	7	0	57	2	62.7
22.4	Stalking	2	0	1086	9	95	0	495	6	64.7
22.5	Others	5	0	4943	204	390	36	2375	115	63.8
23	Insult to the Modesty of Women	2	0	1240	31	94	11	565	37	64.2
23.1	At Office premises	0	0	14	0	3	0	15	0	43.8
23.2	Places related to work other than Office	0	0	164	8	18	0	26	1	79.3
23.3	In Public Transport system	0	0	33	1	1	0	7	0	81.0
23.4	in Other Places	2	0	1029	22	72	11	517	36	62.2
24	Cruelty by Husband or his Relatives	19	6	13107	6534	506	256	5199	2919	68.8
25	Importation of Girls from Foreign Country	0	0	0	0	0	0	0	0	-
26	Causing Death by Negligence	103	1	8856	36	400	7	3627	15	68.2
26.1	Deaths due to negligent driving/act	101	1	8298	24	284	5	3380	11	88.5
26.2	Deaths due to Other Causes	2	0	558	12	116	2	247	4	60.6
27	Offences against State	0	0	0	0	0	0	0	0	-
27.1	Sedition	0	0	0	0	0	0	0	0	-
27.2	Other offences against State	0	0	0	0	0	0	0	0	-
28	Offences promoting enmity between different groups	6	0	344	20	3	0	72	1	81.6
28.1	Promoting enmity on ground of religion race and place of Birth	6	0	344	20	3	0	68	1	82.4
28.2	Imputation & assertions prejudicial to national integration	0	0	0	0	0	0	4	0	0.0
29	Extortion	7	1	1150	49	246	10	578	26	58.0
30	Disclosure of Identity of Victims	0	0	0	0	0	0	0	0	-
31	Incidence of Rash Driving	112	1	26072	137	1110	20	7631	94	74.5
32	Human Trafficking	0	0	138	33	0	0	42	45	66.3
33	Unnatural Offences	1	0	133	9	23	0	78	1	58.0
34	Other IPC crimes	183	29	84626	6513	6774	1379	31010	4991	67.3
	Total Cognizable IPC crimes	**3257**	**165**	**286901**	**23795**	**26551**	**2482**	**129458**	**13382**	**63.9**

तक्ता क्र. ७२

सन २०१५ मध्ये भा.दं.वि. च्या गुन्ह्यांतर्गत घटक-निहाय अटक झालेल्या आरोपींची पोलीसांनी केलेली निर्गती

TABLE NO. 72

Unit-Wise Disposal Of Persons Arrested Under IPC Crimes By Police During - 2015

Sr. No.	Unit	Persons in custody during the stage of investigation at the beginning of the year		Persons on bail during the stage of investigation at the beginning of the year		Total col. 3+5=7 and Col. 4+6 = 8		Persons arrested during the year		Persons released or freed by Police or Magistrate before trial for want of evidence or any other reason	
		Male	Female	Male	Female	Male	Female	Male	Female	Male	Female
1	2	3	4	5	6	7	8	9	10	11	12
1	Akola	101	0	2165	104	2266	104	4900	293	729	0
2	Amravati Rural	16	0	2647	162	2663	162	6265	279	42	0
3	Buldhana	23	2	1335	237	1358	239	8530	1304	194	24
4	Yavatmal	52	6	3747	343	3799	349	9451	669	0	0
5	Washim	26	0	1429	268	1455	268	3420	454	1	0
*	**Amaravati Range**	**218**	**8**	**11323**	**1114**	**11541**	**1122**	**32566**	**2999**	**966**	**24**
6	Aurangabad Rural	30	3	2483	257	2513	260	6956	746	49	0
7	Jalna	6	0	1451	304	1457	304	6369	245	59	0
8	Beed	32	0	2156	220	2188	220	8482	1217	65	2
9	Osmanabad	53	0	913	75	966	75	5416	705	88	5
*	**A'bad Range**	**121**	**3**	**7003**	**856**	**7124**	**859**	**27223**	**2913**	**261**	**7**
10	Nanded	299	2	1594	119	1893	121	8189	870	15	4
11	Latur	65	0	3620	297	3685	297	6246	422	43	0
12	Parbhani	23	0	2061	221	2084	221	7096	858	29	0
13	Hingoli	31	4	722	104	753	108	3739	596	8	6
*	**Nanded Range**	**418**	**6**	**7997**	**741**	**8415**	**747**	**25270**	**2746**	**95**	**10**
14	Kolhapur	105	1	3878	248	3983	249	5838	536	7	0
15	Pune Rural	470	57	2300	611	2770	668	11332	738	156	5
16	Sangli	128	11	2178	218	2306	229	8968	555	38	3
17	Satara	142	1	1767	161	1909	162	9085	680	70	5
18	Solapur Rural	89	5	2581	283	2670	288	10626	613	2	0
*	**Kolhapur Range**	**934**	**75**	**12704**	**1521**	**13638**	**1596**	**45849**	**3122**	**273**	**13**
19	Bhandara	18	0	461	28	479	28	1993	115	42	4
20	Chandrapur	73	0	1776	198	1849	198	4814	360	22	0
21	Nagpur Rural	34	0	1613	38	1647	38	4524	88	8	0
22	Wardha	246	0	1469	56	1715	56	3948	52	0	0
*	**Nagpur Range**	**371**	**0**	**5319**	**320**	**5690**	**320**	**15279**	**615**	**72**	**4**
23	Gadchiroli	28	10	521	40	549	50	1556	70	0	1
24	Gondia	392	8	171	0	563	8	2128	66	34	0
*	**Gadchiroli Range**	**420**	**18**	**692**	**40**	**1112**	**58**	**3684**	**136**	**34**	**1**
25	Ahmednagar	242	22	7107	624	7349	646	12083	1177	65	2
26	Dhule	19	1	1440	185	1459	186	3363	346	54	2
27	Jalgaon	67	0	2326	172	2393	172	9695	490	26	0
28	Nasik Rural	198	30	2816	257	3014	287	9586	1525	701	50
29	Nandurbar	63	1	344	42	407	43	2246	132	27	0
*	**Nasik Range**	**589**	**54**	**14033**	**1280**	**14622**	**1334**	**36973**	**3670**	**873**	**54**
30	Raigad	14	0	1447	109	1461	109	3783	367	45	0
31	Ratnagiri	15	0	597	58	612	58	2784	245	75	12
32	Sindhudurg	53	3	411	32	464	35	1206	88	8	0
33	Thane Rural	140	4	1691	212	1831	216	4079	387	2	0
34	Palghar	115	1	2948	317	3063	318	5319	398	2	0
*	**Thane Range**	**337**	**8**	**7094**	**728**	**7431**	**736**	**17171**	**1485**	**132**	**12**
35	Mumbai Railway	54	0	234	19	288	19	2637	198	9	1
36	Pune Railway	74	16	75	19	149	35	459	50	0	1
37	Nagpur Railway	0	0	241	0	241	0	791	32	17	0
*	**Railways Range**	**128**	**16**	**550**	**38**	**678**	**54**	**3887**	**280**	**26**	**2**
38	Nagpur Commr.	67	0	3064	315	3131	315	9836	643	0	0
39	Pune Commr.	339	14	7180	409	7519	423	15382	1211	158	6
40	Thane Commr.	2287	254	4530	224	6817	478	16956	1657	180	8
41	Mumbai Commr.	11032	276	24235	2664	35267	2940	41006	4397	41	1
42	Nasik Commr.	60	3	1249	203	1309	206	4641	344	9	0
43	Aurangabad Commr.	11	0	2059	301	2070	301	6126	500	36	4
44	Solapur Commr.	44	0	2196	145	2240	145	2070	114	7	0
45	Navi Mumbai	327	6	1701	150	2028	156	6873	665	61	19
46	Amravati Commr.	172	12	744	122	916	134	3827	403	33	0
*	**Total of Commrs.**	**14339**	**565**	**46958**	**4533**	**61297**	**5098**	**106717**	**9934**	**525**	**38**
**	**Total**	**17875**	**753**	**113673**	**11171**	**131548**	**11924**	**314619**	**27900**	**3257**	**165**

तक्ता क्र. ७२

सन २०१५ मध्ये भा.दं.वि. च्या गुन्ह्यांतर्गत घटक-निहाय अटक झालेल्या आरोपींची पोलीसांनी केलेली निर्गती

TABLE NO. 72

Unit-Wise Disposal Of Persons Arrested Under IPC Crimes By Police During - 2015

Sr. No.	Unit	Number of Persons charge sheeted during the year		Persons in custody during the stage of investigation at the end of the year		Persons on bail during the stage of investigation at the end of the year		Pedency Percentage ((col.15+16+17+18)/(col.7+8+9+10))*100	Percentage of Pedency in All Maharashtra Total
		Male	Female	Male	Female	Male	Female		
1	2	13	14	15	16	17	18	19	20
1	Akola	4556	301	55	0	1826	96	26.1	1.2
2	Amravati Rural	6151	288	3	0	2732	153	30.8	1.7
3	Buldhana	7384	1210	43	4	2267	305	22.9	1.5
4	Yavatmal	9306	634	51	2	3893	382	30.3	2.5
5	Washim	3753	642	41	0	1080	80	21.5	0.7
*	**Amaravati Range**	**31150**	**3075**	**193**	**6**	**11798**	**1016**	**27.0**	**7.6**
6	Aurangabad Rural	6537	766	98	6	2785	234	29.8	1.8
7	Jalna	5738	210	5	0	2024	339	28.3	1.4
8	Beed	7623	1232	27	2	2955	201	26.3	1.9
9	Osmanabad	4999	715	82	12	1213	48	18.9	0.8
*	**A'bad Range**	**24897**	**2923**	**212**	**20**	**8977**	**822**	**26.3**	**5.8**
10	Nanded	6891	693	184	0	2992	294	31.3	2.0
11	Latur	5783	303	331	9	3774	407	42.5	2.6
12	Parbhani	6975	880	39	4	2137	195	23.2	1.4
13	Hingoli	3398	526	54	7	1032	165	24.2	0.7
*	**Nanded Range**	**23047**	**2402**	**608**	**20**	**9935**	**1061**	**31.3**	**6.8**
14	Kolhapur	7567	644	166	2	2081	139	22.5	1.4
15	Pune Rural	11048	1091	291	12	2607	298	20.7	1.9
16	Sangli	7330	388	188	5	3718	388	35.7	2.5
17	Satara	8848	708	64	2	2012	127	18.6	1.3
18	Solapur Rural	9634	760	76	5	3584	136	26.8	2.2
*	**Kolhapur Range**	**44427**	**3591**	**785**	**26**	**14002**	**1088**	**24.8**	**9.3**
19	Bhandara	2071	127	17	0	342	12	14.2	0.2
20	Chandrapur	4833	474	29	0	1779	84	26.2	1.1
21	Nagpur Rural	4295	98	41	0	1827	28	30.1	1.1
22	Wardha	3478	88	56	0	2129	20	38.2	1.3
*	**Nagpur Range**	**14677**	**787**	**143**	**0**	**6077**	**144**	29.1	3.7
23	Gadchiroli	1244	77	34	4	827	38	40.6	0.5
24	Gondia	2001	68	402	6	254	0	23.9	0.4
*	**Gadchiroli Range**	**3245**	**145**	**436**	**10**	**1081**	**38**	**31.4**	**0.9**
25	Ahmednagar	11382	920	143	7	7842	894	41.8	5.2
26	Dhule	3368	335	32	3	1368	192	29.8	0.9
27	Jalgaon	9744	550	91	0	2227	112	19.1	1.4
28	Nasik Rural	6010	774	158	3	5731	985	47.7	4.0
29	Nandurbar	2422	157	4	0	200	18	7.9	0.1
*	**Nasik Range**	**32926**	**2736**	**428**	**13**	**17368**	**2201**	**35.4**	**11.6**
30	Raigad	3848	342	9	2	1342	132	26.0	0.9
31	Ratnagiri	2844	203	11	1	466	87	15.3	0.3
32	Sindhudurg	1315	98	17	0	330	25	20.7	0.2
33	Thane Rural	4097	356	649	90	1162	157	31.6	1.2
34	Palghar	5905	249	22	0	2453	467	32.3	1.7
*	**Thane Range**	**18009**	**1248**	**708**	**93**	**5753**	**868**	**27.7**	**4.3**
35	Mumbai Railway	2823	205	25	0	68	11	3.3	0.1
36	Pune Railway	418	47	75	12	115	25	32.8	0.1
37	Nagpur Railway	726	32	289	0	0	0	27.2	0.2
*	**Railways Range**	**3967**	**284**	**389**	**12**	**183**	**36**	**12.7**	**0.4**
38	Nagpur Commr.	10205	523	118	2	2644	433	23.0	1.9
39	Pune Commr.	13606	1034	1522	103	7615	491	39.7	5.7
40	Thane Commr.	10600	930	5920	870	7073	327	54.8	8.3
41	Mumbai Commr.	34719	2057	14745	1293	26768	3986	56.0	27.2
42	Nasik Commr.	4220	321	0	0	1721	229	30.0	1.1
43	Aurangabad Commr.	5340	589	0	0	2820	208	33.7	1.8
44	Solapur Commr.	1376	89	29	0	2898	170	67.8	1.8
45	Navi Mumbai	7355	691	148	7	1337	104	16.4	0.9
46	Amravati Commr.	3135	370	167	7	1408	160	33.0	1.0
*	**Total of Commrs.**	**90556**	**6604**	**22649**	**2282**	**54284**	**6108**	**46.6**	**49.6**
**	**Total**	**286901**	**23795**	**26551**	**2482**	**129458**	**13382**	**35.4**	**100.0**

तक्ता क्र. ७३

सन २०१५ मध्ये भा.दं.वि.च्या गुन्ह्यांतर्गत (शीर्ष-निहाय) अटक झालेल्या आरोपींची कोर्टाकरवी झालेली निर्गती

TABLE NO. 73

Disposal Of Persons Arrested Under IPC Crimes (Head-Wise) By Courts During - 2015

Sr. No.	Crime Head	Persons in custody during the stage of trial at the beginning of the year		Persons on bail during the stage of trial at the beginning of the year		Total number of persons under trial during the year		Persons against whom cases were compounded by Courts		Persons against whom cases were withdrawn		Persons in whose cases trials were completed during the year	
		Male	Female	Male	Female	Male	Female	Male	Female	Male	Female	Male	Female
1	2	3	4	5	6	7	8	9	10	11	12	13	14
	CRIME HEAD:												
1	Murder	6298	160	59315	3970	70352	4608	11	0	25	0	3357	251
2	Attempt to commit Murder	6626	85	72614	4607	86965	5157	41	2	2	0	4152	224
3	Culpable Homicide not amounting to Murder	229	14	2540	79	2997	105	1	0	0	0	149	8
4	Attempt to commit Culpable Homicide	0	0	55	14	80	28	0	0	0	0	14	6
5	Rape	2795	28	21439	569	28532	851	26	1	6	0	1880	64
5.1	Custodial Rape	0	0	0	0	0	0	0	0	0	0	0	0
5.1.1	Gang Rape	0	0	0	0	0	0	0	0	0	0	0	0
5.1.2	Other Rape	0	0	0	0	0	0	0	0	0	0	0	0
5.2	Rape other than Custodial	2795	28	21439	569	28532	851	26	1	6	0	1880	64
5.2.1	Gang Rape	128	0	675	2	1146	13	0	0	0	0	76	0
5.2.2	Other Rape	2667	28	20764	567	27386	838	26	1	6	0	1804	64
6	Attempt to commit Rape	10	0	33	0	62	2	0	0	0	0	4	0
7	Kidnapping & Abduction_Total	2099	418	21347	1289	26638	1962	40	1	9	1	1396	109
7.1	Kidnapping & Abduction	1225	50	7622	387	10203	523	19	0	1	1	366	23
7.2	Kidnaping & Abduction in order to Murder	7	0	126	16	160	18	0	0	0	0	20	0
7.3	Kidnapping for Ransom	9	1	567	24	657	28	0	0	0	0	8	4
7.4	Kidnapping & Abduction of Women to compel her for marriage	259	347	7643	593	8900	1048	10	1	0	0	647	44
7.5	Other Kidnapping	599	20	5389	269	6718	345	11	0	8	0	355	38
8	Dacoity	3269	10	43406	545	50076	659	38	2	25	0	1927	30
8.1	Dacoity with Murder	45	0	205	1	303	5	0	0	0	0	4	0
8.2	Other Dacoity	3224	10	43201	544	49773	654	38	2	25	0	1923	30
9	Making Preparation and Assembly for committing Dacoity	1376	0	13753	3	16325	10	0	0	5	0	756	0
10	Robbery	8191	42	54090	701	71015	895	81	2	45	0	3070	37
11	Criminal Trespass/Burglary_Total	16425	129	117905	1592	143530	1933	45	6	103	0	4725	56
11.1	Criminal Trespass/Burglary	8748	93	82590	1152	98297	1385	30	3	73	0	3622	42
11.2	House Trespass & House Breaking	7677	36	35315	440	45233	548	15	3	30	0	1103	14
12	Theft	28073	130	280235	7727	335235	8845	1042	87	1748	129	14017	354
12.1	Auto Theft	7396	0	54051	31	67737	71	104	0	157	0	1969	12
12.2	Other Thefts	20677	130	226184	7696	267498	8774	938	87	1591	129	12048	342
13	Unlawful Assembly	2885	54	58408	3358	66952	4215	260	4	316	2	3532	224
14	Riots	22962	332	499136	29063	560298	33721	2669	238	1207	22	28115	2680
14.1	Communal	23	0	6139	305	7055	325	77	0	0	0	851	7
14.2	Industrial	0	0	552	28	905	47	14	0	0	0	31	11
14.3	Political	16	0	4231	285	4938	321	22	0	0	0	735	26
14.4	Caste Conflict	0	0	25437	398	27014	473	54	14	0	0	1470	55
14.4.1	SC/STs Vs. Non-SCs/STs	0	0	3663	182	4220	219	0	0	0	0	384	14
14.4.2	Other Caste Riots	0	0	21774	216	22794	254	54	14	0	0	1086	41
14.5	Agrarian	0	0	2567	159	3126	208	11	2	0	0	279	10
14.6	Students	0	0	293	4	299	4	0	0	0	0	16	0
14.7	Sectarian	0	0	0	0	0	0	0	0	0	0	0	0
14.8	Other Riots	22923	332	459917	27884	516961	32343	2491	222	1207	22	24733	2571

तक्ता क्र. ७३

सन २०१५ मध्ये भा.दं.वि.च्या गुन्ह्यांतर्गत (शीर्ष-निहाय) अटक झालेल्या आरोपींची कोर्टाकरवी झालेली निर्गती

TABLE NO. 73

Disposal Of Persons Arrested Under IPC Crimes (Head-Wise) By Courts During - 2015

Sr. No.	Crime Head	Persons in custody during the stage of trial at the beginning of the year		Persons on bail during the stage of trial at the beginning of the year		Total number of persons under trial during the year		Persons against whom cases were compounded by Courts		Persons against whom cases were withdrawn		Persons in whose cases trials were completed during the year	
		Male	Female	Male	Female	Male	Female	Male	Female	Male	Female	Male	Female
1	2	3	4	5	6	7	8	9	10	11	12	13	14
15	Criminal Breach of Trust	3426	44	32509	654	38239	780	83	0	65	1	1420	37
16	Cheating	9931	118	89955	2871	108743	3532	278	17	60	0	4049	138
17	Forgery	463	5	3335	125	4620	176	10	1	5	0	368	20
18	Counterfeiting	187	2	2017	17	2400	36	0	0	0	0	87	1
18.1	Offences related to Counterfeit Coin	4	0	115	0	126	0	0	0	0	0	10	0
18.2	Counterfeiting Government Stamp	0	0	2	0	2	0	0	0	0	0	0	0
18.3	Counterfeit currency & Bank notes	183	2	1900	17	2272	36	0	0	0	0	77	1
18.3.1	Counterfeiting currency notes or Bank notes	138	0	1230	12	1476	16	0	0	0	0	48	1
18.3.2	Using forged or counterfeit currency/Bank notes	18	2	449	2	527	14	0	0	0	0	27	0
18.3.3	Possession of forged or counterfeiting currency / Bank notes	13	0	193	3	227	6	0	0	0	0	2	0
18.3.4	Make/Possess materials for forging or counterfeiting currency/Bank notes	0	0	6	0	6	0	0	0	0	0	0	0
18.3.5	Make/Use documents resembling currency notes/Bank notes	14	0	22	0	36	0	0	0	0	0	0	0
19	Arson	479	6	15195	368	16865	416	28	1	62	4	919	28
20	Grievous Hurt	19888	199	165078	6853	197407	8071	1075	90	262	33	10006	616
20.1	Grievous Hurt	19887	199	165076	6853	197398	8069	1075	90	262	33	10006	616
20.2	Acid attack	1	0	2	0	8	2	0	0	0	0	0	0
20.3	Attempt to Acid Attack	0	0	0	0	1	0	0	0	0	0	0	0
21	Dowry Deaths	544	39	9587	2228	10645	2492	6	1	2	2	746	145
22	Assault on women with intent to outrage her Modesty	3646	44	41812	1248	56825	1679	384	27	45	0	3747	154
22.1	Sexual Harassment	836	9	9138	273	14770	430	108	2	8	0	1036	38
22.2	Assault on women with intent to Disrobe	13	0	719	16	1167	38	7	1	0	0	49	0
22.3	Voyeurism	4	0	258	10	369	14	9	1	0	0	37	3
22.4	Stalking	96	0	1237	17	2419	26	14	0	3	0	101	1
22.5	Others	2697	35	30460	932	38100	1171	246	23	34	0	2524	112
23	Insult to the Modesty of Women	1955	4	11858	195	15053	230	87	4	49	0	791	39
23.1	At Office premises	0	0	38	0	52	0	0	0	0	0	9	0
23.2	Places related to work other than Office	155	0	572	2	891	10	8	0	8	0	56	6
23.3	In Public Transport system	1	0	81	4	115	5	2	0	0	0	2	0
23.4	in Other Places	1799	4	11167	189	13995	215	77	4	41	0	724	33
24	Cruelty by Husband or his Relatives	7283	1822	144891	43553	165281	51909	2116	743	150	30	12496	4684
25	Importation of Girls from Foreign Country	0	0	2	0	2	0	0	0	0	0	0	0
26	Causing Death by Negligence	4335	4	90005	121	103196	161	79	1	170	0	5809	10
26.1	Deaths due to negligent driving/act	3651	3	85954	68	97903	95	77	1	169	0	5545	9
26.2	Deaths due to Other Causes	684	1	4051	53	5293	66	2	0	1	0	264	1
27	Offences against State	0	0	12	0	12	0	0	0	0	0	0	0
27.1	Sedition	0	0	0	0	0	0	0	0	0	0	0	0
27.2	Other offences against State	0	0	12	0	12	0	0	0	0	0	0	0
28	Offences promoting enmity between different groups	3	0	179	9	526	29	0	0	0	0	3	0
28.1	Promoting enmity on ground of religion race and place of Birth	3	0	177	9	524	29	0	0	0	0	3	0
28.2	Imputation & assertions prejudicial to national integration	0	0	2	0	2	0	0	0	0	0	0	0
29	Extortion	665	2	5062	72	6877	123	74	5	12	1	486	2
30	Disclosure of Identity of Victims	0	0	23	0	23	0	0	0	0	0	0	0
31	Incidence of Rash Driving	5061	11	135415	1062	166548	1210	390	0	659	0	20737	37
32	Human Trafficking	147	3	31	27	316	63	14	0	0	0	3	3
33	Unnatural Offences	15	0	276	0	424	9	0	0	5	0	27	0
34	Other IPC crimes	43919	1223	668682	47974	797227	55710	5326	420	1906	160	63296	3537
	Total Cognizable IPC crimes	**203185**	**4928**	**2660200**	**160894**	**3150286**	**189617**	**14204**	**1653**	**6943**	**385**	**192084**	**13494**

तक्ता क्र. ७३

सन २०१५ मध्ये भा.दं.वि.च्या गुन्ह्यांतर्गत (शीर्ष-निहाय) अटक झालेल्या आरोपींची कोर्टाकरवी झालेली निर्गती

TABLE NO. 73

Disposal Of Persons Arrested Under IPC Crimes (Head-Wise) By Courts During - 2015

Sr. No.	Crime Head	Persons convicted		Persons acquitted		Persons Discharged by Court		Persons in custody during the stage of trial at the end of the year		Persons on bail during the stage of trial at the end of the year		Percentage of Persons	
		Male	Female	Male	Female	Male	Female	Male	Female	Male	Female	Whose Trials Remained Pending (Col. 21+22+23+24)/(Col.3+4+5+6+7+8)*100	Convicted in Trial Completed Col.15+16/Col.13+14)*100
1	2	15	16	17	18	19	20	21	22	23	24	25	26
	CRIME HEAD:												
1	Murder	920	60	2369	181	68	10	8132	259	58827	4098	48	22.4
2	Attempt to commit Murder	500	31	3566	191	86	2	8253	133	74517	4798	48	9.4
3	Culpable Homicide not amounting to Murder	17	1	127	7	5	0	152	3	2695	94	48	10.2
4	Attempt to commit Culpable Homicide	2	0	12	6	0	0	7	0	59	22	39	0.0
5	Rape	389	4	1428	60	63	0	3387	79	23233	707	46	13.1
5.1	Custodial Rape	0	0	0	0	0	0	0	0	0	0		
5.1.1	Gang Rape	0	0	0	0	0	0	0	0	0	0		
5.1.2	Other Rape	0	0	0	0	0	0	0	0	0	0		
5.2	Rape other than Custodial	389	4	1428	60	63	0	3387	79	23233	707	46	13.1
5.2.1	Gang Rape	22	0	50	0	4	0	130	0	940	13	41	14.5
5.2.2	Other Rape	367	4	1378	60	59	0	3257	79	22293	694	46	13.0
6	Attempt to commit Rape	2	0	2	0	0	0	0	0	58	2	40	0.0
7	Kidnapping & Abduction_Total	113	8	1217	93	66	8	3057	62	22136	1789	47	3.1
7.1	Kidnapping & Abduction	38	3	302	20	26	0	2325	49	7492	450	46	8.0
7.2	Kidnaping & Abduction in order to Murder	0	0	20	0	0	0	8	0	132	18	46	0.0
7.3	Kidnapping for Ransom	0	0	5	1	3	3	13	0	636	24	47	0.0
7.4	Kidnapping & Abduction of Women to compel her for marriage	42	0	584	39	21	5	81	11	8162	992	47	2.0
7.5	Other Kidnapping	33	5	306	33	16	0	630	2	5714	305	47	0.5
8	Dacoity	51	0	1839	28	37	2	3955	27	44131	600	48	5.3
8.1	Dacoity with Murder	0	0	4	0	0	0	41	0	258	5	45	0.0
8.2	Other Dacoity	51	0	1835	28	37	2	3914	27	43873	595	48	5.3
9	Making Preparation and Assembly for committing Dacoity	15	0	705	0	36	0	2307	2	13257	8	48	0.8
10	Robbery	788	1	2194	35	88	1	12721	80	55098	776	47	32.0
11	Criminal Trespass/Burglary_Total	1151	9	3390	43	184	4	24232	176	114425	1695	48	27.7
11.1	Criminal Trespass/Burglary	906	7	2625	33	91	2	13469	91	81103	1249	48	28.4
11.2	House Trespass & House Breaking	245	2	765	10	93	2	10763	85	33322	446	49	25.3
12	Theft	3002	51	10526	293	489	10	43550	576	274878	7699	48	20.2
12.1	Auto Theft	380	1	1526	11	63	0	11922	3	53585	56	48	22.2
12.2	Other Thefts	2622	50	9000	282	426	10	31628	573	221293	7643	48	19.8
13	Unlawful Assembly	203	16	3259	199	70	9	6592	89	56252	3896	48	3.2
14	Riots	1809	91	25376	2506	930	83	29714	706	498593	30075	48	3.5
14.1	Communal	6	0	845	7	0	0	0	0	6127	318	47	9.2
14.2	Industrial	0	0	31	11	0	0	0	0	860	36	38	0.0
14.3	Political	13	0	706	26	16	0	52	5	4129	290	46	0.0
14.4	Caste Conflict	54	0	1397	55	19	0	10	0	25480	404	48	6.0
14.4.1	SC/STs Vs. Non-SCs/STs	14	0	351	14	19	0	10	0	3826	205	46	1.8
14.4.2	Other Caste Riots	40	0	1046	41	0	0	0	0	21654	199	49	7.5
14.5	Agrarian	0	0	279	10	0	0	0	0	2836	196	45	4.8
14.6	Students	0	0	16	0	0	0	0	0	283	4	50	0.0
14.7	Sectarian	0	0	0	0	0	0	0	0	0	0		
14.8	Other Riots	1736	91	22102	2397	895	83	29652	701	458878	28827	48	3.3

तक्ता क्र. ७३

सन २०१५ मध्ये भा.दं.वि.च्या गुन्ह्यांतर्गत (शीर्ष-निहाय) अटक झालेल्या आरोपींची कोर्टाकरवी झालेली निर्गती

TABLE NO. 73

Disposal Of Persons Arrested Under IPC Crimes (Head-Wise) By Courts During - 2015

Sr. No.	Crime Head	Persons convicted		Persons acquitted		Persons Discharged by Court		Persons in custody during the stage of trial at the end of the year		Persons on bail during the stage of trial at the end of the year		Percentage of Persons	
		Male	Female	Male	Female	Male	Female	Male	Female	Male	Female	Whose Trials Remained Pending (Col. 21+22+23+24)/(Col.3+4+5+6+7+8)*100	Convicted in Trial Completed Col.15+16/Col.13+14)*100
1	2	15	16	17	18	19	20	21	22	23	24	25	26
15	Criminal Breach of Trust	121	3	1254	33	45	1	4466	48	32205	694	49	8.5
16	Cheating	486	15	3488	123	75	0	15102	463	89254	2914	50	12.0
17	Forgery	34	1	305	15	29	4	440	16	3797	139	50	9.0
18	Counterfeiting	20	1	66	0	1	0	188	7	2125	28	50	23.9
18.1	Offences related to Counterfeit Coin	0	0	10	0	0	0	5	0	111	0	47	0.0
18.2	Counterfeiting Government Stamp	0	0	0	0	0	0	0	0	2	0	50	
18.3	Counterfeit currency & Bank notes	20	1	56	0	1	0	183	7	2012	28	51	26.9
18.3.1	Counterfeiting currency notes or Bank notes	8	1	40	0	0	0	103	0	1325	15	50	18.4
18.3.2	Using forged or counterfeit currency/Bank notes	11	0	15	0	1	0	38	4	462	10	51	40.7
18.3.3	Possession of forged or counterfeiting currency / Bank notes	1	0	1	0	0	0	28	3	197	3	52	50.0
18.3.4	Make/Possess materials for forging or counterfeiting currency/Bank notes	0	0	0	0	0	0	0	0	6	0	50	
18.3.5	Make/Use documents resembling currency notes/Bank notes	0	0	0	0	0	0	14	0	22	0	50	
19	Arson	64	0	829	28	26	0	519	0	15337	383	49	6.8
20	Grievous Hurt	999	65	8425	453	582	98	42205	387	143859	6945	49	10.0
20.1	Grievous Hurt	999	65	8425	453	582	98	42204	387	143851	6943	49	10.0
20.2	Acid attack	0	0	0	0	0	0	1	0	7	2	77	
20.3	Attempt to Acid Attack	0	0	0	0	0	0	0	0	1	0	100	
21	Dowry Deaths	45	10	671	124	30	11	530	47	9361	2297	48	6.2
22	Assault on women with intent to outrage her Modesty	600	12	3054	142	93	0	4492	56	48157	1442	51	15.7
22.1	Sexual Harassment	151	2	867	36	18	0	1612	23	12006	367	55	14.2
22.2	Assault on women with intent to Disrobe	8	0	38	0	3	0	94	0	1017	37	59	16.3
22.3	Voyeurism	4	0	32	3	1	0	26	0	297	10	51	10.0
22.4	Stalking	29	0	72	1	0	0	255	1	2046	24	61	28.4
22.5	Others	408	10	2045	102	71	0	2505	32	32791	1004	50	15.9
23	Insult to the Modesty of Women	94	2	666	34	31	3	992	11	13134	176	49	11.6
23.1	At Office premises	1	0	6	0	2	0	4	0	39	0	48	11.1
23.2	Places related to work other than Office	3	0	49	6	4	0	131	2	688	2	50	4.8
23.3	In Public Transport system	1	0	1	0	0	0	6	0	105	5	56	50.0
23.4	in Other Places	89	2	610	28	25	3	851	9	12302	169	49	12.0
24	Cruelty by Husband or his Relatives	484	278	11599	4286	413	120	9622	2284	140897	44168	47	4.4
25	Importation of Girls from Foreign Country	0	0	0	0	0	0	0	0	2	0	50	
26	Causing Death by Negligence	517	4	4854	6	438	0	6896	7	90242	143	49	9.0
26.1	Deaths due to negligent driving/act	495	4	4627	5	423	0	6180	5	85932	80	49	9.0
26.2	Deaths due to Other Causes	22	0	227	1	15	0	716	2	4310	63	50	8.3
27	Offences against State	0	0	0	0	0	0	0	0	12	0	50	
27.1	Sedition	0	0	0	0	0	0	0	0	0	0		
27.2	Other offences against State	0	0	0	0	0	0	0	0	12	0	50	
28	Offences promoting enmity between different groups	0	0	3	0	0	0	14	0	509	29	74	0.0
28.1	Promoting enmity on ground of religion race and place of Birth	0	0	3	0	0	0	14	0	507	29	74	0.0
28.2	Imputation & assertions prejudicial to national integration	0	0	0	0	0	0	0	0	2	0	50	
29	Extortion	27	0	446	2	13	0	998	23	5307	92	50	5.5
30	Disclosure of Identity of Victims	0	0	0	0	0	0	0	0	23	0	50	
31	Incidence of Rash Driving	9263	14	10250	20	1224	3	6968	105	137794	1068	47	44.7
32	Human Trafficking	3	3	0	0	0	0	119	13	180	47	61	100.0
33	Unnatural Offences	15	0	12	0	0	0	40	2	352	7	55	55.6
34	Other IPC crimes	23363	714	38061	2670	1872	153	58767	1926	667932	49667	48	36.0
	Total Cognizable IPC crimes	**45097**	**1394**	**139993**	**11578**	**6994**	**522**	**298417**	**7587**	**2638638**	**166498**	49	22.6

तक्ता क्र. ७४

सन २०१५ मध्ये भा.दं.वि.च्या गुन्ह्यांतर्गत अटक झालेल्या आरोपींची कोर्टाकरवी झालेली निर्गती (घटक-निहाय)

TABLE NO. 74

Disposal Of Persons Arrested Under Ipc Offences By Courts During 2015 (Unit- Wise)

S.No.	Unit	Persons in custody during the stage of trial at the beginning of the year		Persons on bail during the stage of trial at the beginning of the year		Total number of persons under trial during the year		Persons against whom cases were compounded by Courts		Persons against whom cases were withdrawn		Persons in whose cases trials were completed during the year	
		Male	Female	Male	Female	Male	Female	Male	Female	Male	Female	Male	Female
1	2	3	4	5	6	7	8	9	10	11	12	13	14
1	Akola	56	0	31963	2844	36575	3145	36	6	472	46	3020	477
2	Amravati Rural	146	0	55443	2928	61740	3216	327	31	461	0	3681	176
3	Buldhana	111	7	55295	6035	62790	7252	135	40	1792	132	6770	851
4	Yavatmal	137	0	96818	6321	106261	6955	395	88	0	0	5148	585
5	Washim	7	0	10378	1227	14138	1869	313	87	86	2	2130	246
*	**Amaravati Range**	**457**	**7**	**249897**	**19355**	**281504**	**22437**	**1206**	**252**	**2811**	**180**	**20749**	**2335**
6	Aurangabad Rural	64	8	63433	4626	70034	5400	716	115	38	0	3757	319
7	Jalna	320	11	38501	3913	44559	4134	503	22	0	0	4069	519
8	Beed	326	1	41356	4887	49305	6120	717	100	315	0	6599	514
9	Osmanabad	129	32	34817	4126	39945	4873	238	30	0	0	4360	315
*	**A'bad Range**	**839**	**52**	**178107**	**17552**	**203843**	**20527**	**2174**	**267**	**353**	**0**	**18785**	**1667**
10	Nanded	1394	0	90510	6081	98795	6774	640	31	8	0	6573	346
11	Latur	175	0	75598	9105	81556	9408	341	47	0	0	4757	146
12	Parbhani	18	0	43661	4838	50654	5718	63	21	0	0	4853	565
13	Hingoli	43	4	28867	4134	32308	4664	13	0	0	0	2357	357
*	**Nanded Range**	**1630**	**4**	**238636**	**24158**	**263313**	**26564**	**1057**	**99**	**8**	**0**	**18540**	**1414**
14	Kolhapur	13	0	80583	4264	88163	4908	0	0	0	0	4301	251
15	Pune Rural	541	16	108632	4960	120221	6067	0	0	0	0	4034	27
16	Sangli	93	2	40831	3174	48254	3564	190	22	0	0	4871	200
17	Satara	108	6	46300	3492	55256	4206	510	127	0	0	6122	691
18	Solapur Rural	33	1	100939	14984	110606	15745	621	69	129	10	4999	326
*	**Kolhapur Range**	**788**	**25**	**377285**	**30874**	**422500**	**34490**	**1321**	**218**	**129**	**10**	**24327**	**1495**
19	Bhandara	300	1	13145	1188	15516	1316	119	8	118	5	2891	195
20	Chandrapur	178	3	43678	1645	48689	2122	0	0	0	0	3342	126
21	Nagpur Rural	510	0	86221	845	91026	943	180	2	511	6	3240	186
22	Wardha	1702	13	26154	237	31334	338	65	0	0	0	3277	37
*	**Nagpur Range**	**2690**	**17**	**169198**	**3915**	**186565**	**4719**	**364**	**10**	**629**	**11**	**12750**	**544**
23	Gadchiroli	127	13	4849	218	6220	308	3	0	14	0	1394	48
24	Gondia	542	1	12416	162	14959	231	0	0	115	8	3406	85
*	**Gadchiroli Range**	**669**	**14**	**17265**	**380**	**21179**	**539**	**3**	**0**	**129**	**8**	**4800**	**133**
25	Ahmednagar	253	6	108995	6802	120630	7728	1540	174	2	0	6191	536
26	Dhule	19	1	35435	1268	38822	1604	8	2	167	0	4040	344
27	Jalgaon	501	3	80831	7344	91076	7897	792	94	138	7	17791	2322
28	Nasik Rural	277	23	99378	12876	105665	13673	204	39	6	0	9096	125
29	Nandurbar	153	26	16654	552	19229	735	310	16	38	4	2419	122
*	Nasik Range	1203	59	341293	28842	375422	31637	2854	325	351	11	39537	3449
30	**Raigad**	**0**	**0**	**25941**	**778**	**29789**	**1120**	**251**	**9**	**14**	**1**	**3210**	**116**
31	Ratnagiri	13	5	11514	790	14371	998	2	0	10	0	2786	160
32	Sindhudurg	28	3	4727	385	6070	486	16	1	0	0	1722	168
33	Thane Rural	5966	416	45782	928	55845	1700	305	72	42	0	1184	87
34	Palghar	435	11	54080	1256	60420	1516	130	16	0	0	2526	122
*	**Thane Range**	**6442**	**435**	**142044**	**4137**	**166495**	**5820**	**704**	**98**	**66**	**1**	**11428**	**653**
35	Mumbai Railway	171	0	12454	1641	15448	1846	305	70	818	105	1269	60
36	Pune Railway	80	1	2233	44	2731	92	28	3	8	0	139	9
37	Nagpur Railway	667	9	10391	18	11784	59	84	0	51	0	168	0
*	**Railways Range**	**918**	**10**	**25078**	**1703**	**29963**	**1997**	**417**	**73**	**877**	**105**	**1576**	**69**
38	Nagpur Commr.	272	0	116791	3348	127268	3871	210	21	20	0	4289	155
39	Pune Commr.	45407	1737	187050	5095	246063	7866	293	17	124	0	5250	310
40	Thane Commr.	100680	2146	92790	4459	204070	7535	116	6	609	25	4397	283
41	Mumbai Commr.	39373	284	277244	3599	351336	5940	2706	153	675	32	17741	582
42	Nasik Commr.	469	4	64166	2426	68855	2751	308	55	43	2	1951	128
43	Aurangabad Commr.	47	8	52913	2288	58300	2885	54	0	0	0	2414	98
44	Solapur Commr.	50	0	32722	3210	34148	3299	133	41	22	0	665	31
45	Navi Mumbai	650	8	77181	2446	85186	3145	198	18	26	0	1767	80
46	Amravati Commr.	601	118	20540	3107	24276	3595	86	0	71	0	1118	68
*	**Total of Commrs.**	**187549**	**4305**	**921397**	**29978**	**1199502**	**40887**	**4104**	**311**	**1590**	**59**	**39592**	**1735**
**	**Total**	**203185**	**4928**	**2660200**	**160894**	**3150286**	**189617**	**14204**	**1653**	**6943**	**385**	**192084**	**13494**

तक्ता क्र. ७४

सन २०१५ मध्ये भा.दं.वि.च्या गुन्ह्यांतर्गत अटक झालेल्या आरोपींची कोर्टाकरवी झालेली निर्गती (घटक-निहाय)

TABLE NO. 74

Disposal Of Persons Arrested Under Ipc Offences By Courts During 2015 (Unit- Wise)

S.No.	Unit	Persons convicted		Persons acquitted		Persons Discharged by Court		Persons in custody during the stage of trial at the end of the year		Persons on bail during the stage of trial at the end of the year		Pendency Percentage((Col.21+22+23+24)/(Col.3+4+5+6+7+8))*100	Percentage of Pendency in State Total
		Male	Female	Male	Female	Male	Female	Male	Female	Male	Female		
1	2	15	16	17	18	19	20	21	22	23	24	25	26
1	Akola	715	39	2305	438	0	0	56	0	32991	2616	47.8	1.1
2	Amravati Rural	1104	23	2577	153	0	0	245	0	57026	3009	48.8	1.9
3	Buldhana	607	79	6163	772	0	0	41	5	54052	6224	45.9	1.9
4	Yavatmal	694	94	4181	415	273	76	0	0	100718	6282	49.4	3.4
5	Washim	211	14	1919	232	0	0	0	0	11609	1534	47.6	0.4
*	**Amaravati Range**	**3331**	**249**	**17145**	**2010**	**273**	**76**	**342**	**5**	**256396**	**19665**	48.2	8.9
6	Aurangabad Rural	1035	22	2722	297	0	0	18	5	65505	4961	49.1	2.3
7	Jalna	1633	261	1834	166	602	92	0	0	39987	3593	47.7	1.4
8	Beed	904	32	5672	482	23	0	48	3	41626	5503	46.3	1.5
9	Osmanabad	494	17	3866	298	0	0	64	18	35283	4510	47.5	1.3
*	**A'bad Range**	**4066**	**332**	**14094**	**1243**	**625**	**92**	**130**	**26**	**182401**	**18567**	47.8	6.5
10	Nanded	1198	0	5056	328	319	18	137	0	91437	6397	48.1	3.1
11	Latur	1602	7	3155	139	0	0	67	17	76391	9198	48.7	2.8
12	Parbhani	905	29	3948	536	0	0	9	0	45729	5132	48.5	1.6
13	Hingoli	322	0	1890	351	145	6	19	9	29919	4298	48.9	1.1
*	**Nanded Range**	**4027**	**36**	**14049**	**1354**	**464**	**24**	**232**	**26**	**243476**	**25025**	48.5	8.6
14	Kolhapur	1072	25	3191	226	38	0	28	0	83834	4657	49.7	2.8
15	Pune Rural	1181	4	2706	22	147	1	318	16	115869	6024	50.8	3.9
16	Sangli	2144	28	2688	170	39	2	193	2	43000	3340	48.5	1.5
17	Satara	1516	8	4028	645	578	38	69	7	48555	3381	47.6	1.7
18	Solapur Rural	2361	50	2424	243	214	33	183	4	104674	15336	49.6	3.9
*	**Kolhapur Range**	**8274**	**115**	**15037**	**1306**	**1016**	**74**	**791**	**29**	**395932**	**32738**	49.6	13.8
19	Bhandara	361	8	2438	187	92	0	64	2	12324	1106	42.9	0.4
20	Chandrapur	528	23	2814	103	0	0	70	0	45277	1996	49.2	1.5
21	Nagpur Rural	763	1	2477	185	0	0	168	0	86927	749	48.9	2.8
22	Wardha	633	7	2635	30	9	0	157	0	27835	301	47.3	0.9
*	**Nagpur Range**	**2285**	**39**	**10364**	**505**	**101**	**0**	**459**	**2**	**172363**	**4152**	48.2	5.7
23	Gadchiroli	462	2	925	46	7	0	114	4	4695	256	43.2	0.2
24	Gondia	333	0	3073	85	0	0	70	2	11368	136	40.9	0.4
*	**Gadchiroli Range**	**795**	**2**	**3998**	**131**	**7**	**0**	**184**	**6**	**16063**	**392**	41.6	0.5
25	Ahmednagar	733	28	5249	505	209	3	176	3	112721	7015	49.1	3.9
26	Dhule	422	2	3606	342	12	0	23	0	34584	1258	46.5	1.2
27	Jalgaon	4231	161	13560	2161	0	0	439	20	71916	5454	41.5	2.5
28	Nasik Rural	2177	57	6709	68	210	0	112	7	96247	13502	47.4	3.5
29	Nandurbar	338	4	1731	106	350	12	47	1	16415	592	45.7	0.5
*	**Nasik Range**	**7901**	**252**	**30855**	**3182**	**781**	**15**	**797**	**31**	**331883**	**27821**	46.3	11.6
30	Raigad	267	3	2727	111	216	2	13	2	26301	992	47.4	0.9
31	Ratnagiri	482	2	2304	158	0	0	19	3	11554	835	44.8	0.4
32	Sindhudurg	211	5	1511	163	0	0	46	2	4286	315	39.7	0.1
33	Thane Rural	163	3	1020	84	1	0	1058	71	53256	1470	50.5	1.8
34	Palghar	416	6	1518	36	592	80	441	8	57323	1370	50.2	1.9
*	**Thane Range**	**1539**	**19**	**9080**	**552**	**809**	**82**	**1577**	**86**	**152720**	**4982**	49.0	5.1
35	Mumbai Railway	1028	35	232	25	9	0	303	9	12753	1602	46.5	0.5
36	Pune Railway	98	6	41	3	0	0	133	14	2423	66	50.9	0.1
37	Nagpur Railway	85	0	83	0	0	0	986	2	10495	57	50.3	0.4
*	**Railways Range**	**1211**	**41**	**356**	**28**	**9**	**0**	**1422**	**25**	**25671**	**1725**	48.3	0.9
38	Nagpur Commr.	382	4	3395	140	512	11	123	2	122626	3693	50.3	4.1
39	Pune Commr.	568	24	3931	254	751	32	36984	1051	203412	6488	50.3	8.0
40	Thane Commr.	980	24	2489	174	928	85	158162	4831	40786	2390	50.1	6.6
41	Mumbai Commr.	7723	200	9540	359	478	23	95469	1321	234745	3852	49.5	10.8
42	Nasik Commr.	299	16	1490	104	162	8	0	0	66553	2566	49.8	2.2
43	Aurangabad Commr.	732	17	1639	81	43	0	2	0	55830	2787	50.3	1.9
44	Solapur Commr.	162	4	503	27	0	0	63	0	33265	3227	49.8	1.2
45	Navi Mumbai	713	20	1019	60	35	0	944	10	82251	3037	51.1	2.8
46	Amravati Commr.	109	0	1009	68	0	0	736	136	22265	3391	50.8	0.9
*	**Total of Commrs.**	**11668**	**309**	**25015**	**1267**	**2909**	**159**	**292483**	**7351**	**861733**	**31431**	50.0	38.3
**	**Total**	**45097**	**1394**	**139993**	**11578**	**6994**	**522**	**298417**	**7587**	**2638638**	**166498**	48.8	100.0

तक्ता क्र. ७५

सन २०१५ मध्ये विशेष व स्थानिक कायद्यांतर्गत (शीर्ष-निहाय) अटक झालेल्या आरोपींची पोलीसांनी केलेली निर्गती

TABLE NO. 75

Disposal Of Persons Arrested Under Sll Crime (Head-Wise) By Police During 2015

Sr. No.	Crime Head	Persons in custody during the stage of investigation at the beginning of the year		Persons on bail during the stage of investigation at the beginning of the year		Total col. 3+5=7 and Col. 4+6 = 8		Persons arrested during the year	
		Male	Female	Male	Female	Male	Female	Male	Female
	2	3	4	5	6	7	8	9	10
CRIME HEAD:									
1	Arms Act, 1959	175	0	1193	1	1368	1	1685	5
2	Narcotic Drugs & Psychotropic Substances Act, 1985	559	12	3728	28	4287	40	19915	81
3	Gambling Act, 1867	647	1	18982	29	19629	30	53425	100
4	Excise Act, 1944	0	0	0	0	0	0	2	0
5	Prohibition Act	417	18	31251	1015	31668	1033	64003	4997
6	Explosives and Explosive Substances Act	0	0	69	0	69	0	59	0
7	Immoral Traffic (Prevention) Act, 1956	36	5	921	86	957	91	445	473
7.1	Under Section 5	9	1	177	42	186	43	204	84
7.2	Under Section 6	0	0	29	0	29	0	27	16
7.3	Under Section 7	0	0	153	9	153	9	48	36
7.4	Under Section 8	0	0	2	5	2	5	47	205
7.5	Other Sections under ITP Act	27	4	560	30	587	34	119	132
8	Indian Railways Act, 1989	1	0	17	0	18	0	6	0
9	Registration of Foreigners Act, 1939	1	0	8	0	9	0	1	0
10	Protection of Civil Rights Act, 1955	0	0	10	0	10	0	7	4
10.1	PCR Act for crimes committed against SCs	0	0	10	0	10	0	7	4
10.2	PCR Act for crimes committed against STs	0	0	0	0	0	0	0	0
10.3	PCR Act for crimes committed against Others	0	0	0	0	0	0	0	0
11	Passport Act, 1967	28	0	154	9	182	9	166	40
12	Essential Commodities Act, 1955	54	2	1091	11	1145	13	1079	29
13	Antiquities & Art Treasures Act, 1972	0	0	1	0	1	0	3	0
14	Dowry Prohibition Act, 1961	0	0	18	1	18	1	92	11
15	Indecent Representation of Women (Prohibition) Act, 1986	0	0	0	0	0	0	0	0
16	Copyright Act, 1957	61	0	377	3	438	3	551	1
17	Commission of Sati Prevention Act 1987	6	0	22	0	28	0	36	3
18	SC/ST (Prevention of Atrocities) Act, 1989)	2	0	181	6	183	6	444	40
18.1	POA Act for crimes committed against SCs	2	0	142	6	144	6	379	35
18.2	POA Act for crimes committed against STs	0	0	39	0	39	0	65	5
19	Forest Act, 1927	0	0	13	0	13	0	19	0
20	Prohibition of Child Marriage Act, 2006	4	3	20	7	24	10	62	16
21	Protection of Women from Domestic Violence Act, 2005	0	0	4	1	4	1	22	2
22	Information Technology Act, 2000	7	0	143	3	150	3	232	4
23	Official Secrets Act, 1923	0	0	0	0	0	0	0	0
24	Electricity Act, 2003	9	0	233	15	242	15	693	26
25	Wildlife Protection Act, 1972	2	0	94	0	96	0	65	0

तक्ता क्र. ७५

सन २०१५ मध्ये विशेष व स्थानिक कायद्यांतर्गत (शीर्ष-निहाय) अटक झालेल्या आरोपींची पोलीसांनी केलेली निर्गती

TABLE NO. 75

Disposal Of Persons Arrested Under SLL Crime (Head-Wise) By Police During 2015

S.No.	Crime Head	Persons in custody during the stage of investigation at the beginning of the year		Persons on bail during the stage of investigation at the beginning of the year		Total col. 3+5=7 and Col. 4+6 = 8		Persons arrested during the year	
		Male	Female	Male	Female	Male	Female	Male	Female
1	2	3	4	5	6	7	8	9	10
26	Bonded Labour System (Abolition) Act, 1976	11	0	0	0	11	0	4	0
26.1	Against SCs	0	0	0	0	0	0	0	0
26.2	Against STs	0	0	0	0	0	0	0	0
26.3	Against others	11	0	0	0	11	0	4	0
27	Environmental (Protection) Act, 1986	6	0	19	0	25	0	79	0
28	Air (Prevention & Control of Pollution) Act, 1981	0	0	19	0	19	0	80	0
29	Water (Prevention & Control of Pollution) Act, 1974 (as amended in 1988)	0	0	1	0	1	0	1	0
30	National Security Act, 1980	0	0	0	0	0	0	1	0
31	Unlawful Activities (Prevention) Act, 1967	0	0	0	0	0	0	0	0
32	Young Persons (Harmful Publications) Act, 1956	0	0	0	0	0	0	0	0
33	Railway Property (Unlawful Possession) Act, 1966	0	0	0	0	0	0	0	0
34	Prevention of Damage to Public Property Act, 1984	4	0	85	0	89	0	177	2
35	Transplantation of Human Organs Act, 1994	0	0	0	0	0	0	0	0
36	Trade Marks Act, 1999	0	0	2	0	2	0	7	0
37	Prevention of Insults to National Honour Act, 1971	0	0	4	0	4	0	12	1
38	State Emblem (Prohibition of Improper Use) Act, 2005	0	0	0	0	0	0	1	0
39	Lotteries (Regulation) Act, 1998	2	0	64	5	66	5	27	0
40	Citizenship Act, 1955	0	0	0	0	0	0	0	0
41	Foreigners Act, 1946	0	0	3	1	3	1	20	3
42	Place of Worship (Special Provisions) Act, 1991	0	0	0	0	0	0	0	0
43	Religious Institution (Prevention of Misuse) Act, 1988	0	0	0	0	0	0	0	0
44	Representation of People Act, 1951	0	0	60	0	60	0	23	0
45	Emigration Act, 1983	0	0	0	0	0	0	0	0
46	Juvenile Justice (Care and Protection of Children) Act, 2000	17	2	54	0	71	2	205	97
47	Infant Substitutes Regulation Act, 2003	0	0	0	0	0	0	0	0
48	Anti-Hijacking Act, 1982	0	0	0	0	0	0	0	0
49	Atomic Energy Act, 1962	0	0	0	0	0	0	0	0
50	Weapons of Mass Destruction (Proh. of Unlawful Activities) Act, 2005	0	0	0	0	0	0	0	0
51	Suppression of Unlawful Acts against Safety of Civil Aviation Act, 1982	0	0	0	0	0	0	0	0
52	Safety of Maritime Navigation Act, 2002	0	0	0	0	0	0	0	0
53	Manual Scavengers and Construction of Dry Latrines (P) Act, 1993	0	0	0	0	0	0	0	0
54	Pre-Natal Diagnostic Techniques (Reg and Prev of Misuse) Act, 1994	0	0	1	0	1	0	0	0
55	The Maritime Zones of India (Reg of Fishing by Foreign Vessels) Act, 1981	0	0	0	0	0	0	0	0
56	Other SLL crimes	1429	70	12631	708	14060	778	42619	1216
	Total Cognizable SLL crimes	**3478**	**113**	**71473**	**1929**	**74951**	**2042**	**186268**	**7151**

तक्ता क्र. ७५

सन २०१५ मध्ये विशेष व स्थानिक कायद्यांतर्गत (शीर्ष-निहाय) अटक झालेल्या आरोपींची पोलीसांनी केलेली निर्गती

TABLE NO. 75

Disposal Of Persons Arrested Under SLL Crime (Head-Wise) By Police During 2015

Sr. No.	Crime Head	Persons released or freed by Police or Magistrate before trial for want of evidence or any other reason		Number of Persons charge sheeted during the year		Persons in custody during the stage of investigation at the end of the year		Persons on bail during the stage of investigation at the end of the year		Persons Charge Sheeted ((Col. 13+14)/(Col. 7+8+9+10))* 100
		Male	Female	Male	Female	Male	Female	Male	Female	% To Total
1	2	11	12	13	14	15	16	17	18	19
CRIME HEAD:										
1	Arms Act, 1959	1	0	1515	1	290	0	1247	5	49.6
2	Narcotic Drugs & Psychotropic Substances Act, 1985	1	0	20394	60	1307	24	2500	37	84.1
3	Gambling Act, 1867	88	0	45762	78	3452	20	23752	32	62.6
4	Excise Act, 1944	0	0	0	0	0	0	2	0	0.0
5	Prohibition Act	1	5	57284	4793	1157	183	37229	1049	61.0
6	Explosives and Explosive Substances Act	0	0	78	0	1	0	49	0	60.9
7	Immoral Traffic (Prevention) Act, 1956	49	0	703	287	167	35	483	242	50.4
7.1	Under Section 5	49	0	197	70	31	13	113	44	51.6
7.2	Under Section 6	0	0	12	1	0	0	44	15	18.1
7.3	Under Section 7	0	0	146	30	13	0	42	15	71.5
7.4	Under Section 8	0	0	49	82	0	2	0	126	50.6
7.5	Other Sections under ITP Act	0	0	299	104	123	20	284	42	46.2
8	Indian Railways Act, 1989	0	0	17	0	0	0	7	0	70.8
9	Registration of Foreigners Act, 1939	0	0	0	0	2	0	8	0	0.0
10	Protection of Civil Rights Act, 1955	1	0	6	0	0	0	10	4	28.6
10.1	PCR Act for crimes committed against SCs	1	0	6	0	0	0	10	4	28.6
10.2	PCR Act for crimes committed against STs	0	0	0	0	0	0	0	0	
10.3	PCR Act for crimes committed against Others	0	0	0	0	0	0	0	0	
11	Passport Act, 1967	0	0	219	27	23	4	106	18	62.0
12	Essential Commodities Act, 1955	6	0	1124	28	149	3	945	11	50.8
13	Antiquities & Art Treasures Act, 1972	0	0	4	0	0	0	0	0	100.0
14	Dowry Prohibition Act, 1961	0	0	91	11	0	0	19	1	83.6
15	Indecent Representation of Women (Prohibition) Act, 1986	0	0	0	0	0	0	0	0	
16	Copyright Act, 1957	3	0	449	3	176	0	361	1	45.5
17	Commission of Sati Prevention Act 1987	0	0	52	1	3	0	9	2	79.1
18	SC/ST (Prevention of Atrocities) Act, 1989)	10	1	379	39	11	2	227	4	62.1
18.1	POA Act for crimes committed against SCs	6	1	317	36	10	1	190	3	62.6
18.2	POA Act for crimes committed against STs	4	0	62	3	1	1	37	1	59.6
19	Forest Act, 1927	0	0	27	0	0	0	5	0	84.4
20	Prohibition of Child Marriage Act, 2006	0	0	75	23	2	1	9	2	87.5
21	Protection of Women from Domestic Violence Act, 2005	0	0	9	2	0	0	17	1	37.9
22	Information Technology Act, 2000	15	0	143	4	21	0	203	3	37.8
23	Official Secrets Act, 1923	0	0	0	0	0	0	0	0	
24	Electricity Act, 2003	46	0	310	10	194	20	385	11	32.8
25	Wildlife Protection Act, 1972	0	0	82	0	15	0	64	0	50.9

तक्ता क्र. ७५

सन २०१५ मध्ये विशेष व स्थानिक कायद्यांतर्गत (शीर्ष-निहाय) अटक झालेल्या आरोपींची पोलीसांनी केलेली निर्गती

TABLE NO. 75

Disposal Of Persons Arrested Under Sll Crime (Head-Wise) By Police During 2015

S.No.	Crime Head	Persons released or freed by Police or Magistrate before trial for want of evidence or any other reason		Number of Persons charge sheeted during the year		Persons in custody during the stage of investigation at the end of the year		Persons on bail during the stage of investigation at the end of the year		PERSONS CHARGE SHEETED ((Col. 13+14)/(Col. 7+8+9+10))* 100
		Male	Female	Male	Female	Male	Female	Male	Female	% To Total
1	2	11	12	13	14	15	16	17	18	19
26	Bonded Labour System (Abolition) Act, 1976	0	0	4	0	0	0	11	0	26.7
26.1	Against SCs	0	0	0	0	0	0	0	0	
26.2	Against STs	0	0	0	0	0	0	0	0	
26.3	Against others	0	0	4	0	0	0	11	0	26.7
27	Environmental (Protection) Act, 1986	0	0	67	0	17	0	20	0	64.4
28	Air (Prevention & Control of Pollution) Act, 1981	0	0	36	0	0	0	63	0	36.4
29	Water (Prevention & Control of Pollution) Act, 1974(as amended in 1988)	0	0	1	0	0	0	1	0	50.0
30	National Security Act, 1980	0	0	1	0	0	0	0	0	100.0
31	Unlawful Activities (Prevention) Act, 1967	0	0	0	0	0	0	0	0	
32	Young Persons (Harmful Publications) Act, 1956	0	0	0	0	0	0	0	0	
33	Railway Property (Unlawful Possession) Act, 1966	0	0	0	0	0	0	0	0	
34	Prevention of Damage to Public Property Act, 1984	8	0	165	2	14	0	79	0	62.3
35	Transplantation of Human Organs Act, 1994	0	0	0	0	0	0	0	0	
36	Trade Marks Act, 1999	0	0	8	0	0	0	1	0	88.9
37	Prevention of Insults to National Honour Act, 1971	0	0	14	1	0	0	2	0	88.2
38	State Emblem (Prohibition of Improper Use) Act, 2005	0	0	0	0	1	0	0	0	0.0
39	Lotteries (Regulation) Act, 1998	0	0	18	0	11	0	64	5	18.4
40	Citizenship Act, 1955	0	0	0	0	0	0	0	0	
41	Foreigners Act, 1946	0	0	19	4	2	0	2	0	85.2
42	Place of Worship (Special Provisions) Act, 1991	0	0	0	0	0	0	0	0	
43	Religious Institution (Prevention of Misuse) Act, 1988	0	0	0	0	0	0	0	0	
44	Representation of People Act, 1951	2	0	68	0	0	0	13	0	81.9
45	Emigration Act, 1983	0	0	0	0	0	0	0	0	
46	Juvenile Justice (Care and Protection of Children) Act, 2000	0	0	73	39	57	27	146	33	29.9
47	Infant Substitutes Regulation Act, 2003	0	0	0	0	0	0	0	0	
48	Anti-Hijacking Act, 1982	0	0	0	0	0	0	0	0	
49	Atomic Energy Act, 1962	0	0	0	0	0	0	0	0	
50	Weapons of Mass Destruction (Proh. of Unlawful Activities) Act, 2005	0	0	0	0	0	0	0	0	
51	Suppression of Unlawful Acts against Safety of Civil Aviation Act, 1982	0	0	0	0	0	0	0	0	
52	Safety of Maritime Navigation Act, 2002	0	0	0	0	0	0	0	0	
53	Manual Scavengers and Construction of Dry Latrines (P) Act, 1993	0	0	0	0	0	0	0	0	
54	Pre-Natal Diagnostic Techniques (Reg and Prev of Misuse) Act, 1994	0	0	1	0	0	0	0	0	100.0
55	The Maritime Zones of India (Reg of Fishing by Foreign Vessels) Act, 1981	0	0	0	0	0	0	0	0	
56	Other SLL crimes	96	0	41557	1094	2361	180	12665	720	72.7
	Total Cognizable SLL crimes	**327**	**6**	**170755**	**6507**	**9433**	**499**	**80704**	**2181**	65.6

तक्ता क्र. ७६

सन२०१५ मध्ये विशेष व स्थानिक कायद्यांतर्गत (घटक-निहाय) अटक झालेल्या आरोपींची पोलीसांनी केलेली निर्गती

TABLE No. 76

Disposal Of Persons Arrested Under SLL Crimes (Unit-Wise) By Police During 2015

Sr. No.	Unit	Persons in custody during the stage of investigation at the beginning of the year		Persons on bail during the stage of investigation at the beginning of the year		Total col. 3+5=7 and Col. 4+6 = 8		Persons arrested during the year		Persons released or freed by Police or Magistrate before trial for want of evidence or any other reason	
		Male	Female	Male	Female	Male	Female	Male	Female	Male	Female
1	2	3	4	5	6	7	8	9	10	11	12
1	Akola	0	0	573	42	573	42	3011	84	90	0
2	Amravati Rural	0	0	634	54	634	54	5918	50	0	0
3	Buldhana	0	0	946	37	946	37	5863	250	8	0
4	Yavatmal	2	0	1379	30	1381	30	6774	268	0	0
5	Washim	0	0	619	17	619	17	1708	70	0	0
*	**Amaravati Range**	**2**	**0**	**4151**	**180**	**4153**	**180**	**23274**	**722**	**98**	**0**
6	Aurangabad Rural	0	0	375	4	375	4	2535	15	0	0
7	Jalna	78	0	163	0	241	0	3803	7	1	0
8	Beed	0	0	719	3	719	3	4644	78	2	0
9	Osmanabad	0	0	276	14	276	14	2210	89	4	0
*	**A'bad Range**	**78**	**0**	**1533**	**21**	**1611**	**21**	**13192**	**189**	**7**	**0**
10	Nanded	0	0	393	25	393	25	3682	121	0	0
11	Latur	0	0	398	13	398	13	2760	64	0	0
12	Parbhani	0	0	322	3	322	3	2608	50	0	0
13	Hingoli	0	0	264	1	264	1	1415	35	0	0
*	**Nanded Range**	**0**	**0**	**1377**	**42**	**1377**	**42**	**10465**	**270**	**0**	**0**
14	Kolhapur	0	0	979	47	979	47	2270	58	0	0
15	Pune Rural	0	0	2763	21	2763	21	3418	79	3	0
16	Sangli	0	0	711	53	711	53	2293	82	2	0
17	Satara	0	0	229	21	229	21	2846	111	1	0
18	Solapur Rural	0	0	1209	3	1209	3	6104	145	0	0
*	**Kolhapur Range**	**0**	**0**	**5891**	**145**	**5891**	**145**	**16931**	**475**	**6**	**0**
19	Bhandara	0	0	223	17	223	17	2609	209	6	0
20	Chandrapur	0	0	497	48	497	48	8962	478	0	0
21	Nagpur Rural	0	0	684	32	684	32	5333	85	0	0
22	Wardha	3	0	3397	0	3400	0	12263	205	0	0
*	**Nagpur Range**	**3**	**0**	**4801**	**97**	**4804**	**97**	**29167**	**977**	**6**	**0**
23	Gadchiroli	0	0	674	100	674	100	1894	559	0	0
24	Gondia	237	0	30	0	267	0	2451	275	0	0
*	**Gadchiroli Range**	**237**	**0**	**704**	**100**	**941**	**100**	**4345**	**834**	**0**	**0**
25	Ahmednagar	7	0	2033	18	2040	18	4768	139	0	0
26	Dhule	0	0	220	1	220	1	1379	42	0	0
27	Jalgaon	0	0	595	6	595	6	4262	140	2	0
28	Nasik Rural	1	0	353	20	354	20	2452	177	88	5
29	Nandurbar	12	1	189	0	201	1	1156	41	0	0
*	**Nasik Range**	**20**	**1**	**3390**	**45**	**3410**	**46**	**14017**	**539**	**90**	**5**
30	Raigad	0	0	290	27	290	27	673	92	3	0
31	Ratnagiri	3	0	523	357	526	357	472	31	0	0
32	Sindhudurg	0	0	134	4	134	4	335	44	0	0
33	Thane Rural	33	0	520	60	553	60	1203	271	102	0
34	Palghar	6	0	488	34	494	34	815	86	0	0
*	**Thane Range**	**42**	**0**	**1955**	**482**	**1997**	**482**	**3498**	**524**	**105**	**0**
35	Mumbai Railway	2	0	11	0	13	0	104	1	0	0
36	Pune Railway	0	0	61	0	61	0	48	7	0	0
37	Nagpur Railway	0	0	7	3	7	3	142	17	0	0
*	**Railways Range**	**2**	**0**	**79**	**3**	**81**	**3**	**294**	**25**	**0**	**0**
38	Nagpur Commr.	0	0	4000	307	4000	307	23701	476	0	0
39	Pune Commr.	11	0	2490	80	2501	80	5684	411	4	1
40	Thane Commr.	826	35	749	8	1575	43	3512	293	8	0
41	Mumbai Commr.	2189	77	14984	354	17173	431	29840	1069	0	0
42	Nasik Commr.	0	0	354	13	354	13	1469	27	0	0
43	Aurangabad Commr.	0	0	339	20	339	20	1272	62	1	0
44	Solapur Commr.	0	0	24151	12	24151	12	1599	0	0	0
45	Navi Mumbai	62	0	304	12	366	12	1720	174	2	0
46	Amravati Commr.	6	0	221	8	227	8	2288	84	0	0
*	**Total of Commrs.**	**3094**	**112**	**47592**	**814**	**50686**	**926**	**71085**	**2596**	**15**	**1**
**	**Total**	**3478**	**113**	**71473**	**1929**	**74951**	**2042**	**186268**	**7151**	**327**	**6**

तक्ता क्र. ७६

सन२०१५ मध्ये विशेष व स्थानिक कायद्यांतर्गत (घटक-निहाय) अटक झालेल्या आरोपींची पोलीसांनी केलेली निर्गती

TABLE No. 76

Disposal Of Persons Arrested Under SLL Crimes (Unit-Wise) By Police During 2015

Sr. No.	Unit	Number of Persons charge sheeted during the year		Persons in custody during the stage of investigation at the end of the year		Persons on bail during the stage of investigation at the end of the year		Persons Pedency Percentage (col.15+16+17+18) /(col.7+8+9+10))* 100	Persons Percentage of Pedency in All Maharashtra Total
		Male	Female	Male	Female	Male	Female	Male	Female
1	2	13	14	15	16	17	18	19	20
1	Akola	2940	126	0	0	554	0	14.9	0.6
2	Amravati Rural	5499	79	1	0	1052	25	16.2	1.2
3	Buldhana	5560	227	6	0	1235	60	18.3	1.4
4	Yavatmal	7079	159	0	0	1076	139	14.4	1.3
5	Washim	2223	86	0	0	104	1	4.3	0.1
*	Amaravati Range	**23301**	**677**	**7**	**0**	**4021**	**225**	15.0	4.6
6	Aurangabad Rural	2519	6	6	0	385	13	13.8	0.4
7	Jalna	3570	3	70	2	403	2	11.8	0.5
8	Beed	3861	59	0	0	1500	22	28.0	1.6
9	Osmanabad	1985	85	4	0	493	18	19.9	0.6
*	A'bad Range	**11935**	**153**	**80**	**2**	**2781**	**55**	19.4	3.1
10	Nanded	3047	133	0	0	1028	13	24.7	1.1
11	Latur	2630	32	0	0	528	45	17.7	0.6
12	Parbhani	2400	50	0	0	530	3	17.9	0.6
13	Hingoli	1411	35	0	0	268	1	15.7	0.3
*	Nanded Range	**9488**	**250**	**0**	**0**	**2354**	**62**	19.9	2.6
14	Kolhapur	2690	97	0	0	559	8	16.9	0.6
15	Pune Rural	3325	54	3	0	2850	46	46.2	3.1
16	Sangli	1851	83	0	0	1151	52	38.3	1.3
17	Satara	2763	124	5	0	306	8	9.9	0.3
18	Solapur Rural	4842	128	1	0	2470	20	33.4	2.7
*	Kolhapur Range	**15471**	**486**	**9**	**0**	**7336**	**134**	31.9	8.1
19	Bhandara	2444	208	2	0	380	18	13.1	0.4
20	Chandrapur	6754	416	0	0	2705	110	28.2	3.0
21	Nagpur Rural	4463	95	0	0	1554	22	25.7	1.7
22	Wardha	10256	178	0	0	5407	27	34.2	5.9
*	Nagpur Range	**23917**	**897**	**2**	**0**	**10046**	**177**	29.2	11.0
23	Gadchiroli	1748	575	0	0	820	84	28.0	1.0
24	Gondia	2211	221	404	54	103	0	18.7	0.6
*	Gadchiroli Range	**3959**	**796**	**404**	**54**	**923**	**84**	23.6	1.6
25	Ahmednagar	4781	123	8	0	2019	34	29.6	2.2
26	Dhule	1334	43	0	0	265	0	16.1	0.3
27	Jalgaon	4367	141	0	0	488	5	9.9	0.5
28	Nasik Rural	1941	144	117	0	660	48	27.5	0.9
29	Nandurbar	1162	42	0	0	195	0	13.9	0.2
*	Nasik Range	**13585**	**493**	**125**	**0**	**3627**	**87**	21.3	4.1
30	Raigad	654	84	0	0	306	35	31.5	0.4
31	Ratnagiri	453	33	0	0	545	355	64.9	1.0
32	Sindhudurg	391	44	0	0	78	4	15.9	0.1
33	Thane Rural	1101	225	415	83	138	23	31.6	0.7
34	Palghar	678	76	0	0	631	44	47.2	0.7
*	Thane Range	**3277**	**462**	**415**	**83**	**1698**	**461**	40.9	2.9
35	Mumbai Railway	103	1	0	0	14	0	11.9	0.0
36	Pune Railway	42	7	3	0	64	0	57.8	0.1
37	Nagpur Railway	124	20	25	0	0	0	14.8	0.0
*	Railways Range	**269**	**28**	**28**	**0**	**78**	**0**	26.3	0.1
38	Nagpur Commr.	23660	589	0	0	4041	194	14.9	4.6
39	Pune Commr.	5591	355	423	40	2167	95	31.4	2.9
40	Thane Commr.	2659	213	1409	59	1011	64	46.9	2.7
41	Mumbai Commr.	25837	806	6494	259	14682	435	45.1	23.6
42	Nasik Commr.	1220	15	0	0	603	25	33.7	0.7
43	Aurangabad Commr.	1204	69	1	0	405	13	24.7	0.5
44	Solapur Commr.	1517	12	0	0	24233	0	94.1	26.1
45	Navi Mumbai	1748	142	24	2	312	42	16.7	0.4
46	Amravati Commr.	2117	64	12	0	386	28	16.3	0.5
*	**Total of Commrs.**	**65553**	**2265**	**8363**	**360**	**47840**	**896**	45.9	61.9
**	**Total**	**170755**	**6507**	**9433**	**499**	**80704**	**2181**	34.3	100.0

तक्ता क्र. ७७

सन २०१५ मध्ये विशेष व स्थानिक कायद्यांतर्गत (शीर्ष-निहाय) अटक झालेल्या आरोपींची कोर्टाकरवी केलेली निर्गती

TABLE NO. 77

Disposal Of Persons Arrested Under Sll Crimes (Head-Wise) By Court During 2015

S.No.	Crime Head	Persons in custody during the stage of trial at the beginning of the year		Persons on bail during the stage of trial at the beginning of the year		Total number of persons under trial during the year		Persons against whom cases were compounded by Courts	
		Male	Female	Male	Female	Male	Female	Male	Female
1	2	3	4	5	6	7	8	9	10
1	Arms Act, 1959	1157	0	18879	6	21551	7	0	0
2	Narcotic Drugs & Psychotropic Substances Act, 1985	3435	35	20235	122	44064	217	514	0
3	Gambling Act, 1867	16367	6	348848	312	410977	396	38	0
4	Excise Act, 1944	0	0	20	0	20	0	0	0
5	Prohibition Act	38946	626	698939	52640	795169	58059	4	0
6	Explosives and Explosive Substances Act	53	0	1535	1	1666	1	1	0
7	Immoral Traffic (Prevention) Act, 1956	948	18	12346	1478	13997	1783	1	0
7.1	Under Section 5	117	3	2643	560	2957	633	1	0
7.2	Under Section 6	0	0	149	21	161	22	0	0
7.3	Under Section 7	10	3	1822	226	1978	259	0	0
7.4	Under Section 8	0	0	376	84	425	166	0	0
7.5	Other Sections under ITP Act	821	12	7356	587	8476	703	0	0
8	Indian Railways Act, 1989	100	0	2803	5	2920	5	1	0
9	Registration of Foreigners Act, 1939	4	0	505	12	509	12	0	0
10	Protection of Civil Rights Act, 1955	42	0	989	12	1037	12	0	0
10.1	PCR Act for crimes committed against SCs	42	0	978	12	1026	12	0	0
10.2	PCR Act for crimes committed against STs	0	0	11	0	11	0	0	0
10.3	PCR Act for crimes committed against Others	0	0	0	0	0	0	0	0
11	Passport Act, 1967	1023	380	1517	12	2759	419	0	0
12	Essential Commodities Act, 1955	1029	1	28574	138	30727	167	20	0
13	Antiquities & Art Treasures Act, 1972	0	0	44	0	48	0	0	0
14	Dowry Prohibition Act, 1961	19	4	754	96	864	111	0	0
15	Indecent Representation of Women (Prohibition) Act, 1986	0	0	422	0	422	0	0	0
16	Copyright Act, 1957	636	0	10134	32	11219	35	7	0
17	Commission of Sati Prevention Act 1987	18	0	213	1	283	2	0	0
18	SC/ST (Prevention of Atrocities) Act, 1989)	134	8	4138	371	4651	418	1	0
18.1	POA Act for crimes committed against SCs	133	8	3386	303	3836	347	1	0
18.2	POA Act for crimes committed against STs	1	0	752	68	815	71	0	0
19	Forest Act, 1927	16	0	776	5	819	5	0	0
20	Prohibition of Child Marriage Act, 2006	14	0	467	113	556	136	0	0
21	Protection of Women from Domestic Violence Act, 2005	0	0	38	1	47	3	0	0
22	Information Technology Act, 2000	2	1	501	17	646	22	1	0
23	Official Secrets Act, 1923	0	0	1	0	1	0	0	0
24	Electricity Act, 2003	333	7	3508	32	4151	49	32	0
25	Wildlife Protection Act, 1972	36	0	410	3	528	3	0	0
26	Bonded Labour System (Abolition) Act, 1976	0	0	22	0	26	0	0	0
26.1	Against SCs	0	0	0	0	0	0	0	0
26.2	Against STs	0	0	0	0	0	0	0	0
26.3	Against others	0	0	22	0	26	0	0	0
27	Environmental (Protection) Act, 1986	34	0	112	0	213	0	2	0
28	Air (Prevention & Control of Pollution) Act, 1981	0	0	76	0	112	0	0	0
29	Water (Prevention & Control of Pollution) Act, 1974(as amended in 1988)	0	0	0	0	1	0	0	0
30	National Security Act, 1980	0	0	2	0	3	0	0	0
31	Unlawful Activities (Prevention) Act, 1967	0	0	5	0	5	0	0	0
32	Young Persons (Harmful Publications) Act, 1956	0	0	0	0	0	0	0	0
33	Railway Property (Unlawful Possession) Act, 1966	0	0	3	0	3	0	0	0
34	Prevention of Damage to Public Property Act, 1984	56	1	671	2	892	5	0	0
35	Transplantation of Human Organs Act, 1994	0	0	0	0	0	0	0	0
36	Trade Marks Act, 1999	0	0	0	0	8	0	0	0
37	Prevention of Insults to National Honour Act, 1971	0	0	46	2	60	3	0	0
38	State Emblem (Prohibition of Improper Use) Act, 2005	0	0	0	0	0	0	0	0
39	Lotteries (Regulation) Act, 1998	39	0	36	0	93	0	0	0
40	Citizenship Act, 1955	0	0	0	0	0	0	0	0
41	Foreigners Act, 1946	1	0	22	12	42	16	0	0
42	Place of Worship (Special Provisions) Act, 1991	0	0	0	0	0	0	0	0
43	Religious Institution (Prevention of Misuse) Act, 1988	0	0	1	0	1	0	0	0
44	Representation of People Act, 1951	4	0	139	2	211	2	2	0
45	Emigration Act, 1983	0	0	1	0	1	0	0	0
46	Juvenile Justice (Care and Protection of Children) Act, 2000	7	0	55	6	135	45	0	2
47	Infant Substitutes Regulation Act, 2003	0	0	1	0	1	0	0	0
48	Anti-Hijacking Act, 1982	0	0	0	0	0	0	0	0
49	Atomic Energy Act, 1962	0	0	1	0	1	0	0	0
50	Weapons of Mass Destruction (Proh. of Unlawful Activities) Act, 2005	0	0	0	0	0	0	0	0
51	Suppression of Unlawful Acts against Safety of Civil Aviation Act, 1982	0	0	0	0	0	0	0	0
52	Safety of Maritime Navigation Act, 2002	0	0	0	0	0	0	0	0
53	Manual Scavengers and Construction of Dry Latrines (P) Act, 1993	0	0	0	0	0	0	0	0
54	Pre-Natal Diagnostic Techniques (Reg and Prev of Misuse) Act, 1994	0	0	1	0	2	0	0	0
55	The Maritime Zones of India (Reg of Fishing by Foreign Vessels) Act, 1981	0	0	0	0	0	0	0	0
56	Other SLL crimes	41319	285	323125	4158	406001	5537	177	0
	Total Cognizable SLL crimes	**105772**	**1372**	**1480915**	**59591**	**1757442**	**67470**	**801**	**2**

तक्ता क्र. 77

सन २०१५ मध्ये विशेष व स्थानिक कायद्यांतर्गत (शीर्ष-निहाय) अटक झालेल्या आरोपींची कोर्टाकरवी केलेली निर्गती

TABLE NO. 77

Disposal Of Persons Arrested Under Sll Crimes (Head-Wise) By Court During 2015

S.No.	Crime Head	Persons against whom cases were withdrawn		Persons in whose cases trials were completed during the year		Persons convicted		Persons acquitted	
		Male	Female	Male	Female	Male	Female	Male	Female
1	2	11	12	13	14	15	16	17	18
1	Arms Act, 1959	17	0	709	0	52	0	594	0
2	Narcotic Drugs & Psychotropic Substances Act, 1985	1626	1	12698	8	10748	5	1186	0
3	Gambling Act, 1867	3958	56	26126	52	8286	0	17190	52
4	Excise Act, 1944	0	0	0	0	0	0	0	0
5	Prohibition Act	4625	183	37811	3268	879	10	33626	2917
6	Explosives and Explosive Substances Act	2	0	64	0	4	0	59	0
7	Immoral Traffic (Prevention) Act, 1956	2	0	309	140	167	108	139	32
7.1	Under Section 5	0	0	78	16	35	5	42	11
7.2	Under Section 6	0	0	2	0	0	0	2	0
7.3	Under Section 7	0	0	21	3	2	0	19	3
7.4	Under Section 8	0	0	45	54	45	53	0	1
7.5	Other Sections under ITP Act	2	0	163	67	85	50	76	17
8	Indian Railways Act, 1989	34	2	11	0	9	0	2	0
9	Registration of Foreigners Act, 1939	0	0	3	0	3	0	0	0
10	Protection of Civil Rights Act, 1955	0	0	39	0	0	0	39	0
10.1	PCR Act for crimes committed against SCs	0	0	39	0	0	0	39	0
10.2	PCR Act for crimes committed against STs	0	0	0	0	0	0	0	0
10.3	PCR Act for crimes committed against Others	0	0	0	0	0	0	0	0
11	Passport Act, 1967	0	0	85	10	58	10	27	0
12	Essential Commodities Act, 1955	48	0	1485	8	37	0	1434	8
13	Antiquities & Art Treasures Act, 1972	0	0	0	0	0	0	0	0
14	Dowry Prohibition Act, 1961	0	0	60	4	0	0	59	4
15	Indecent Representation of Women (Prohibition) Act, 1986	0	0	0	0	0	0	0	0
16	Copyright Act, 1957	7	0	331	1	9	0	308	1
17	Commission of Sati Prevention Act 1987	0	0	8	0	3	0	5	0
18	SC/ST (Prevention of Atrocities) Act, 1989)	0	0	402	12	16	0	372	12
18.1	POA Act for crimes committed against SCs	0	0	329	12	15	0	304	12
18.2	POA Act for crimes committed against STs	0	0	73	0	1	0	68	0
19	Forest Act, 1927	1	0	108	2	3	0	101	0
20	Prohibition of Child Marriage Act, 2006	0	0	21	6	0	0	21	6
21	Protection of Women from Domestic Violence Act, 2005	0	0	0	0	0	0	0	0
22	Information Technology Act, 2000	3	0	33	1	1	0	28	1
23	Official Secrets Act, 1923	0	0	1	0	0	0	1	0
24	Electricity Act, 2003	18	3	314	2	23	1	266	1
25	Wildlife Protection Act, 1972	8	0	36	2	4	0	22	2
26	Bonded Labour System (Abolition) Act, 1976	0	0	0	0	0	0	0	0
26.1	Against SCs	0	0	0	0	0	0	0	0
26.2	Against STs	0	0	0	0	0	0	0	0
26.3	Against others	0	0	0	0	0	0	0	0
27	Environmental (Protection) Act, 1986	0	0	17	0	0	0	17	0
28	Air (Prevention & Control of Pollution) Act, 1981	0	0	5	0	0	0	5	0
29	Water (Prevention & Control of Pollution) Act, 1974(as amended in 1988)	0	0	0	0	0	0	0	0
30	National Security Act, 1980	0	0	0	0	0	0	0	0
31	Unlawful Activities (Prevention) Act, 1967	0	0	0	0	0	0	0	0
32	Young Persons (Harmful Publications) Act, 1956	0	0	0	0	0	0	0	0
33	Railway Property (Unlawful Possession) Act, 1966	0	0	0	0	0	0	0	0
34	Prevention of Damage to Public Property Act, 1984	0	0	84	1	17	1	63	0
35	Transplantation of Human Organs Act, 1994	0	0	0	0	0	0	0	0
36	Trade Marks Act, 1999	0	0	3	0	3	0	0	0
37	Prevention of Insults to National Honour Act, 1971	0	0	5	0	0	0	5	0
38	State Emblem (Prohibition of Improper Use) Act, 2005	0	0	0	0	0	0	0	0
39	Lotteries (Regulation) Act, 1998	0	0	4	0	4	0	0	0
40	Citizenship Act, 1955	0	0	0	0	0	0	0	0
41	Foreigners Act, 1946	0	0	13	3	11	3	2	0
42	Place of Worship (Special Provisions) Act, 1991	0	0	0	0	0	0	0	0
43	Religious Institution (Prevention of Misuse) Act, 1988	0	0	1	0	0	0	1	0
44	Representation of People Act, 1951	0	0	9	0	0	0	7	0
45	Emigration Act, 1983	0	0	0	0	0	0	0	0
46	Juvenile Justice (Care and Protection of Children) Act, 2000	1	0	8	2	6	2	2	0
47	Infant Substitutes Regulation Act, 2003	0	0	0	0	0	0	0	0
48	Anti-Hijacking Act, 1982	0	0	0	0	0	0	0	0
49	Atomic Energy Act, 1962	0	0	0	0	0	0	0	0
50	Weapons of Mass Destruction (Proh. of Unlawful Activities) Act, 2005	0	0	0	0	0	0	0	0
51	Suppression of Unlawful Acts against Safety of Civil Aviation Act, 1982	0	0	0	0	0	0	0	0
52	Safety of Maritime Navigation Act, 2002	0	0	0	0	0	0	0	0
53	Manual Scavengers and Construction of Dry Latrines (P) Act, 1993	0	0	0	0	0	0	0	0
54	Pre-Natal Diagnostic Techniques (Reg and Prev of Misuse) Act, 1994	0	0	0	0	0	0	0	0
55	The Maritime Zones of India (Reg of Fishing by Foreign Vessels) Act, 1981	0	0	0	0	0	0	0	0
56	Other SLL crimes	1603	109	29231	216	17243	46	10530	152
	Total Cognizable SLL crimes	**11953**	**354**	**110034**	**3738**	**37586**	**186**	**66111**	**3188**

तक्ता क्र. ७७

सन २०१५ मध्ये विशेष व स्थानिक कायद्यांतर्गत (शीर्ष-निहाय) अटक झालेल्या आरोपींची कोर्टाकरवी केलेली निर्गती

TABLE NO. 77

Disposal Of Persons Arrested Under SLL Crimes (Head-Wise) By Court During 2015

S.No.	Crime Head	Persons Discharged by Court		Persons in custody during the stage of trial at the end of the year		Persons on bail during the stage of trial at the end of the year	
		Male	Female	Male	Female	Male	Female
1	2	19	20	21	22	23	24
1	Arms Act, 1959	63	0	2883	0	17942	7
2	Narcotic Drugs & Psychotropic Substances Act, 1985	764	3	5632	42	23594	166
3	Gambling Act, 1867	650	0	20048	40	360807	248
4	Excise Act, 1944	0	0	4	0	16	0
5	Prohibition Act	3306	341	37464	2874	715265	51734
6	Explosives and Explosive Substances Act	1	0	62	0	1537	1
7	Immoral Traffic (Prevention) Act, 1956	3	0	1772	25	11913	1618
7.1	Under Section 5	1	0	349	9	2529	608
7.2	Under Section 6	0	0	19	2	140	20
7.3	Under Section 7	0	0	2	0	1955	256
7.4	Under Section 8	0	0	0	0	380	112
7.5	Other Sections under ITP Act	2	0	1402	14	6909	622
8	Indian Railways Act, 1989	0	0	112	0	2762	3
9	Registration of Foreigners Act, 1939	0	0	20	0	486	12
10	Protection of Civil Rights Act, 1955	0	0	22	0	976	12
10.1	PCR Act for crimes committed against SCs	0	0	22	0	965	12
10.2	PCR Act for crimes committed against STs	0	0	0	0	11	0
10.3	PCR Act for crimes committed against Others	0	0	0	0	0	0
11	Passport Act, 1967	0	0	168	16	2506	393
12	Essential Commodities Act, 1955	14	0	1251	4	27923	155
13	Antiquities & Art Treasures Act, 1972	0	0	1	0	47	0
14	Dowry Prohibition Act, 1961	1	0	3	0	801	107
15	Indecent Representation of Women (Prohibition) Act, 1986	0	0	0	0	422	0
16	Copyright Act, 1957	14	0	1224	0	9650	34
17	Commission of Sati Prevention Act 1987	0	0	22	0	253	2
18	SC/ST (Prevention of Atrocities) Act, 1989)	14	0	155	12	4093	394
18.1	POA Act for crimes committed against SCs	10	0	152	12	3354	323
18.2	POA Act for crimes committed against STs	4	0	3	0	739	71
19	Forest Act, 1927	4	2	10	0	700	3
20	Prohibition of Child Marriage Act, 2006	0	0	13	0	522	130
21	Protection of Women from Domestic Violence Act, 2005	0	0	0	0	47	3
22	Information Technology Act, 2000	4	0	41	2	568	19
23	Official Secrets Act, 1923	0	0	0	0	0	0
24	Electricity Act, 2003	25	0	473	11	3314	33
25	Wildlife Protection Act, 1972	10	0	39	0	445	1
26	Bonded Labour System (Abolition) Act, 1976	0	0	0	0	26	0
26.1	Against SCs	0	0	0	0	0	0
26.2	Against STs	0	0	0	0	0	0
26.3	Against others	0	0	0	0	26	0
27	Environmental (Protection) Act, 1986	0	0	32	0	162	0
28	Air (Prevention & Control of Pollution) Act, 1981	0	0	0	0	107	0
29	Water (Prevention & Control of Pollution) Act, 1974(as amended in 1988)	0	0	0	0	1	0
30	National Security Act, 1980	0	0	0	0	3	0
31	Unlawful Activities (Prevention) Act, 1967	0	0	0	0	5	0
32	Young Persons (Harmful Publications) Act, 1956	0	0	0	0	0	0
33	Railway Property (Unlawful Possession) Act, 1966	0	0	0	0	3	0
34	Prevention of Damage to Public Property Act, 1984	4	0	43	0	765	4
35	Transplantation of Human Organs Act, 1994	0	0	0	0	0	0
36	Trade Marks Act, 1999	0	0	0	0	5	0
37	Prevention of Insults to National Honour Act, 1971	0	0	0	0	55	3
38	State Emblem (Prohibition of Improper Use) Act, 2005	0	0	0	0	0	0
39	Lotteries (Regulation) Act, 1998	0	0	23	0	66	0
40	Citizenship Act, 1955	0	0	0	0	0	0
41	Foreigners Act, 1946	0	0	6	0	23	13
42	Place of Worship (Special Provisions) Act, 1991	0	0	0	0	0	0
43	Religious Institution (Prevention of Misuse) Act, 1988	0	0	0	0	0	0
44	Representation of People Act, 1951	2	0	4	0	196	2
45	Emigration Act, 1983	0	0	0	0	1	0
46	Juvenile Justice (Care and Protection of Children) Act, 2000	0	0	28	21	98	20
47	Infant Substitutes Regulation Act, 2003	0	0	0	0	1	0
48	Anti-Hijacking Act, 1982	0	0	0	0	0	0
49	Atomic Energy Act, 1962	0	0	1	0	0	0
50	Weapons of Mass Destruction (Proh. of Unlawful Activities) Act, 2005	0	0	0	0	0	0
51	Suppression of Unlawful Acts against Safety of Civil Aviation Act, 1982	0	0	0	0	0	0
52	Safety of Maritime Navigation Act, 2002	0	0	0	0	0	0
53	Manual Scavengers and Construction of Dry Latrines (P) Act, 1993	0	0	0	0	0	0
54	Pre-Natal Diagnostic Techniques (Reg and Prev of Misuse) Act, 1994	0	0	0	0	2	0
55	The Maritime Zones of India (Reg of Fishing by Foreign Vessels) Act, 1981	0	0	0	0	0	0
56	Other SLL crimes	1458	18	41294	743	333696	4469
	Total Cognizable SLL crimes	**6337**	**364**	**112850**	**3790**	**1521804**	**59586**

तक्ता क्र. 77

सन २०१५ मध्ये विशेष व स्थानिक कायद्यांतर्गत (शीर्ष-निहाय) अटक झालेल्या आरोपींची कोर्टाकरवी केलेली निर्गती

TABLE NO. 77

Disposal Of Persons Arrested Under SLL Crimes (Head-Wise) By Court During 2015

S.No.	Crime Head	Percentage of Persons	
		Whose Trials Remained Pending (Col. 21+22+23+24)/(Col.3+4+5+6+7+8)*100	Convicted in Trial Completed Col.15+16/Col.13+14)*100
-1	-2	-25	-26
1	Arms Act, 1959	50.1	7.3
2	Narcotic Drugs & Psychotropic Substances Act, 1985	43.2	84.6
3	Gambling Act, 1867	49.1	31.7
4	Excise Act, 1944	50.0	
5	Prohibition Act	49.1	2.2
6	Explosives and Explosive Substances Act	49.1	6.3
7	Immoral Traffic (Prevention) Act, 1956	50.1	61.2
7.1	Under Section 5	50.6	42.6
7.2	Under Section 6	51.3	0.0
7.3	Under Section 7	51.5	8.3
7.4	Under Section 8	46.8	99.0
7.5	Other Sections under ITP Act	49.8	58.7
8	Indian Railways Act, 1989	49.3	81.8
9	Registration of Foreigners Act, 1939	49.7	100.0
10	Protection of Civil Rights Act, 1955	48.3	0.0
10.1	PCR Act for crimes committed against SCs	48.3	0.0
10.2	PCR Act for crimes committed against STs	50.0	
10.3	PCR Act for crimes committed against Others		
11	Passport Act, 1967	50.5	71.6
12	Essential Commodities Act, 1955	48.4	2.5
13	Antiquities & Art Treasures Act, 1972	52.2	
14	Dowry Prohibition Act, 1961	49.3	0.0
15	Indecent Representation of Women (Prohibition) Act, 1986	50.0	#DIV/0!
16	Copyright Act, 1957	49.5	2.7
17	Commission of Sati Prevention Act 1987	53.6	37.5
18	SC/ST (Prevention of Atrocities) Act, 1989)	47.9	3.9
18.1	POA Act for crimes committed against SCs	47.9	4.4
18.2	POA Act for crimes committed against STs	47.6	1.4
19	Forest Act, 1927	44.0	2.7
20	Prohibition of Child Marriage Act, 2006	51.7	0.0
21	Protection of Women from Domestic Violence Act, 2005	56.2	
22	Information Technology Act, 2000	53.0	2.9
23	Official Secrets Act, 1923	0.0	0.0
24	Electricity Act, 2003	47.4	7.6
25	Wildlife Protection Act, 1972	49.5	10.5
26	Bonded Labour System (Abolition) Act, 1976	54.2	
26.1	Against SCs		
26.2	Against STs		
26.3	Against others	54.2	
27	Environmental (Protection) Act, 1986	54.0	0.0
28	Air (Prevention & Control of Pollution) Act, 1981	56.9	0.0
29	Water (Prevention & Control of Pollution) Act, 1974(as amended in 1988)	100.0	
30	National Security Act, 1980	60.0	
31	Unlawful Activities (Prevention) Act, 1967	50.0	
32	Young Persons (Harmful Publications) Act, 1956		
33	Railway Property (Unlawful Possession) Act, 1966	50.0	
34	Prevention of Damage to Public Property Act, 1984	49.9	21.2
35	Transplantation of Human Organs Act, 1994		
36	Trade Marks Act, 1999	62.5	100.0
37	Prevention of Insults to National Honour Act, 1971	52.3	0.0
38	State Emblem (Prohibition of Improper Use) Act, 2005		
39	Lotteries (Regulation) Act, 1998	53.0	100.0
40	Citizenship Act, 1955		
41	Foreigners Act, 1946	45.2	87.5
42	Place of Worship (Special Provisions) Act, 1991		
43	Religious Institution (Prevention of Misuse) Act, 1988	0.0	0.0
44	Representation of People Act, 1951	56.4	0.0
45	Emigration Act, 1983	50.0	
46	Juvenile Justice (Care and Protection of Children) Act, 2000	67.3	80.0
47	Infant Substitutes Regulation Act, 2003	50.0	
48	Anti-Hijacking Act, 1982		
49	Atomic Energy Act, 1962	50.0	
50	Weapons of Mass Destruction (Proh. of Unlawful Activities) Act, 2005		
51	Suppression of Unlawful Acts against Safety of Civil Aviation Act, 1982		
52	Safety of Maritime Navigation Act, 2002		
53	Manual Scavengers and Construction of Dry Latrines (P) Act, 1993		
54	Pre-Natal Diagnostic Techniques (Reg and Prev of Misuse) Act, 1994	66.7	
55	The Maritime Zones of India (Reg of Fishing by Foreign Vessels) Act, 1981		
56	Other SLL crimes	48.7	58.7
	Total Cognizable SLL crimes	48.9	33.2

तक्ता क्र. ७८

सन २०१५ मध्ये विशेष व स्थानिक कायद्यांतर्गत अटक झालेल्या आरोपींची कोर्टाकरवी केलेली निर्गती (घटक-निहाय)

TABLE No. 78

Disposal Of Persons Arrested Under SLL Crimes By Courts During 2015(Unit-Wise)

Sr. No.	Unit	Persons in custody during the stage of trial at the beginning of the year		Persons on bail during the stage of trial at the beginning of the year		Total number of persons under trial during the year		Persons against whom cases were compounded by Courts		Persons against whom cases were withdrawn		Persons in whose cases trials were completed during the year	
		Male	Female	Male	Female	Male	Female	Male	Female	Male	Female	Male	Female
1	2	3	4	5	6	7	8	9	10	11	12	13	14
1	Akola	0	0	15614	1088	18554	1214	0	0	377	93	1110	128
2	Amravati Rural	13	0	37762	1266	43274	1345	0	0	269	0	3905	81
3	Buldhana	4	0	28715	825	34279	1052	6	0	6085	93	4018	216
4	Yavatmal	4	0	81630	4596	88713	4755	0	0	0	0	4462	222
5	Washim	0	0	5990	84	8213	170	0	0	149	6	1210	59
*	**Amaravati Range**	**21**	**0**	**169711**	**7859**	**193033**	**8536**	**6**	**0**	**6880**	**192**	**14705**	**706**
6	Aurangabad Rural	0	0	19551	457	22070	463	3	0	132	8	2310	43
7	Jalna	51	0	13171	22	16792	25	71	0	0	0	2162	5
8	Beed	0	0	10433	219	14294	278	0	0	492	4	1851	10
9	Osmanabad	0	0	14345	1440	16330	1525	0	0	1	0	1842	247
*	**A'bad Range**	**51**	**0**	**57500**	**2138**	**69486**	**2291**	**74**	**0**	**625**	**12**	**8165**	**305**
10	Nanded	0	0	30298	242	33345	375	3	0	0	0	1552	14
11	Latur	0	0	47039	506	49669	538	0	0	0	0	3282	3
12	Parbhani	0	0	15380	310	17780	360	0	0	0	0	2116	33
13	Hingoli	0	0	10753	218	12164	253	5	0	0	0	682	44
*	**Nanded Range**	**0**	**0**	**103470**	**1276**	**112958**	**1526**	**8**	**0**	**0**	**0**	**7632**	**94**
14	Kolhapur	0	0	36979	3022	39669	3119	0	0	0	0	1734	0
15	Pune Rural	138	0	44399	1551	47862	1605	0	0	0	0	1005	26
16	Sangli	0	0	37475	647	39326	730	0	0	0	0	1135	40
17	Satara	0	0	11166	454	13929	578	1	0	0	0	2036	95
18	Solapur Rural	2	0	72280	18182	77124	18310	0	0	0	0	2106	87
*	**Kolhapur Range**	**140**	**0**	**202299**	**23856**	**217910**	**24342**	**1**	**0**	**0**	**0**	**8016**	**248**
19	Bhandara	16	4	14524	1582	16984	1794	0	0	279	11	2669	305
20	Chandrapur	0	0	20217	180	26971	596	0	0	0	0	2673	135
21	Nagpur Rural	0	0	46586	469	51049	564	0	0	355	24	1999	74
22	Wardha	0	0	28122	1518	38378	1696	3	0	0	0	7881	177
*	**Nagpur Range**	**16**	**4**	**109449**	**3749**	**133382**	**4650**	**3**	**0**	**634**	**35**	**15222**	**691**
23	Gadchiroli	2	0	2342	271	4092	846	0	0	4	0	2290	642
24	Gondia	0	0	10420	1	12631	222	0	0	10	0	1749	80
*	**Gadchiroli Range**	**2**	**0**	**12762**	**272**	**16723**	**1068**	**0**	**0**	**14**	**0**	**4039**	**722**
25	Ahmednagar	3	0	56824	1579	61608	1702	0	0	0	0	2050	1
26	Dhule	0	0	20115	606	21449	649	0	0	431	61	882	45
27	Jalgaon	0	0	34418	35	38785	176	0	0	405	3	8156	54
28	Nasik Rural	18	2	35853	3139	37812	3285	0	0	16	0	1852	0
29	Nandurbar	57	0	9311	135	10530	177	1	0	145	5	1251	33
*	**Nasik Range**	**78**	**2**	**156521**	**5494**	**170184**	**5989**	**1**	**0**	**997**	**69**	**14191**	**133**
30	Raigad	0	0	5814	258	6468	342	14	0	30	1	649	78
31	Ratnagiri	0	0	2532	132	2985	165	0	0	0	0	1099	50
32	Sindhudurg	0	0	1612	264	2003	308	0	0	0	0	607	114
33	Thane Rural	393	52	11198	700	12692	977	0	0	87	18	249	5
34	Palghar	29	0	12852	715	13559	791	0	0	0	0	178	93
*	**Thane Range**	**422**	**52**	**34008**	**2069**	**37707**	**2583**	**14**	**0**	**117**	**19**	**2782**	**340**
35	Mumbai Railway	0	0	2314	379	2417	380	0	0	112	2	28	1
36	Pune Railway	0	0	555	0	597	7	0	0	0	0	53	7
37	Nagpur Railway	134	0	6257	0	6515	20	1	0	18	0	28	0
*	**Railways Range**	**134**	**0**	**9126**	**379**	**9529**	**407**	**1**	**0**	**130**	**2**	**109**	**8**
38	Nagpur Commr.	3	0	99382	3297	123045	3886	0	0	30	0	14669	44
39	Pune Commr.	55512	607	136973	1813	198076	2775	1	0	123	9	1947	144
40	Thane Commr.	42165	361	42353	1481	87177	2055	0	0	77	2	1300	18
41	Mumbai Commr.	6394	26	108162	483	140393	1315	664	0	2130	6	15207	200
42	Nasik Commr.	0	0	62614	186	63834	201	2	0	0	0	416	18
43	Aurangabad Commr.	0	0	20778	351	21982	420	0	0	0	0	433	15
44	Solapur Commr.	0	0	111919	236	113436	248	4	0	9	0	285	0
45	Navi Mumbai	815	315	24562	3793	27125	4250	0	2	23	3	413	23
46	Amravati Commr.	19	5	19326	859	21462	928	22	0	164	5	503	29
*	**Total of Commrs.**	**104908**	**1314**	**626069**	**12499**	**796530**	**16078**	**693**	**2**	**2556**	**25**	**35173**	**491**
**	**Total**	**105772**	**1372**	**1480915**	**59591**	**1757442**	**67470**	**801**	**2**	**11953**	**354**	**110034**	**3738**

तक्ता क्र. ७८

सन २०१५ मध्ये विशेष व स्थानिक कायद्यांतर्गत अटक झालेल्या आरोपींची कोर्टाकरवी केलेली निर्गती (घटक-निहाय)

TABLE No. 78

Disposal Of Persons Arrested Under SLL Crimes By Courts During 2015(Unit-Wise)

Sr. No.	Unit	Persons convicted		Persons acquitted		Persons Discharged by Court		Persons in custody during the stage of trial at the end of the year		Persons on bail during the stage of trial at the end of the year		Pendency Percen-tage	Percen-tage of Pende-ncy in State Total
		Male	Female	Male	Female	Male	Female	Male	Female	Male	Female		
1	2	15	16	17	18	19	20	21	22	23	24	25	26
1	Akola	445	0	665	128	0	0	0	0	17067	993	49.5	1.1
2	Amravati Rural	1366	0	2539	81	0	0	9	0	39091	1264	48.2	2.4
3	Buldhana	428	3	3590	213	0	0	5	0	24165	743	38.4	1.5
4	Yavatmal	806	6	3271	119	385	97	0	0	84251	4533	49.4	5.2
5	Washim	107	0	1103	59	0	0	0	0	6854	105	48.1	0.4
*	**Amaravati Range**	**3152**	**9**	**11168**	**600**	**385**	**97**	**14**	**0**	**171428**	**7638**	**47.2**	10.5
6	Aurangabad Rural	574	0	1736	43	0	0	0	0	19625	412	47.1	1.2
7	Jalna	1269	0	813	5	80	0	0	0	14559	20	48.5	0.9
8	Beed	607	0	1182	10	62	0	0	0	11951	264	48.4	0.7
9	Osmanabad	304	0	1538	247	0	0	0	0	14487	1278	46.9	0.9
*	**A'bad Range**	**2754**	**0**	**5269**	**305**	**142**	**0**	**0**	**0**	**60622**	**1974**	47.6	3.7
10	Nanded	189	0	942	0	421	14	0	0	31790	361	50.0	1.9
11	Latur	141	0	3141	3	0	0	0	0	46387	535	48.0	2.8
12	Parbhani	139	0	1977	33	0	0	0	0	15664	327	47.3	0.9
13	Hingoli	74	0	326	44	282	0	0	0	11477	209	50.0	0.7
*	**Nanded Range**	**543**	**0**	**6386**	**80**	**703**	**14**	**0**	**0**	**105318**	**1432**	**48.7**	**6.3**
14	Kolhapur	217	0	1408	0	109	0	0	0	37935	3119	49.6	2.4
15	Pune Rural	95	0	910	26	0	0	0	0	46857	1579	50.7	2.9
16	Sangli	142	0	962	40	31	0	0	0	38191	690	49.7	2.3
17	Satara	521	5	1087	64	428	26	4	0	11888	483	47.4	0.7
18	Solapur Rural	623	0	904	19	579	68	2	0	75016	18223	50.2	5.5
*	**Kolhapur Range**	**1598**	**5**	**5271**	**149**	**1147**	**94**	**6**	**0**	**209887**	**24094**	**49.9**	**13.8**
19	Bhandara	488	3	2045	291	136	11	0	0	14036	1478	44.4	0.9
20	Chandrapur	629	0	2044	135	0	0	0	0	24298	461	51.6	1.5
21	Nagpur Rural	414	0	1585	74	0	0	0	0	48695	466	49.8	2.9
22	Wardha	239	0	7189	170	453	7	0	0	30494	1519	45.9	1.9
*	**Nagpur Range**	**1770**	**3**	**12863**	**670**	**589**	**18**	**0**	**0**	**117523**	**3924**	**48.3**	**7.2**
23	Gadchiroli	28	0	2262	642	0	0	1	0	1797	204	26.5	0.1
24	Gondia	156	0	1593	80	0	0	0	0	10872	142	47.3	0.6
*	**Gadchiroli Range**	**184**	**0**	**3855**	**722**	**0**	**0**	**1**	**0**	**12669**	**346**	**42.2**	**0.8**
25	Ahmednagar	204	0	1557	1	289	0	5	0	59553	1701	50.3	3.6
26	Dhule	32	0	850	45	0	0	0	0	20136	543	48.3	1.2
27	Jalgaon	1972	4	6184	50	0	0	0	0	30224	119	41.3	1.8
28	Nasik Rural	370	0	1270	0	212	0	0	0	35944	3285	49.0	2.3
29	Nandurbar	107	0	1006	21	138	12	0	0	9133	139	45.9	0.5
*	**Nasik Range**	**2685**	**4**	**10867**	**117**	**639**	**12**	**5**	**0**	**154990**	**5787**	**47.5**	**9.5**
30	Raigad	24	1	579	77	46	0	0	0	5775	263	46.9	0.4
31	Ratnagiri	21	0	1078	50	0	0	0	0	1886	115	34.4	0.1
32	Sindhudurg	15	0	592	114	0	0	0	0	1396	194	38.0	0.1
33	Thane Rural	40	0	209	5	0	0	355	80	12001	874	51.2	0.8
34	Palghar	41	1	130	5	7	87	18	0	13363	698	50.4	0.8
*	**Thane Range**	**141**	**2**	**2588**	**251**	**53**	**87**	**373**	**80**	**34421**	**2144**	**48.2**	**2.2**
35	Mumbai Railway	19	0	8	1	1	0	1	0	2276	377	48.3	0.2
36	Pune Railway	46	7	7	0	0	0	0	0	544	0	46.9	0.0
37	Nagpur Railway	20	0	8	0	0	0	167	4	6301	16	50.2	0.4
*	**Railways Range**	**85**	**7**	**23**	**1**	**1**	**0**	**168**	**4**	**9121**	**393**	**49.5**	**0.6**
38	Nagpur Commr.	11490	2	2209	18	970	24	0	0	108346	3842	48.9	6.6
39	Pune Commr.	761	3	839	138	347	3	22142	2348	173863	274	50.2	11.7
40	Thane Commr.	239	10	756	5	305	3	62692	1146	23108	889	50.0	5.2
41	Mumbai Commr.	11600	128	2697	62	910	10	27374	198	95018	911	48.1	7.3
42	Nasik Commr.	76	0	257	17	83	1	0	0	63416	183	50.1	3.7
43	Aurangabad Commr.	86	0	317	15	30	0	0	0	21549	405	50.4	1.3
44	Solapur Commr.	83	0	202	0	0	0	0	0	113138	248	50.2	6.7
45	Navi Mumbai	256	13	124	9	33	1	45	9	26644	4213	50.8	1.8
46	Amravati Commr.	83	0	420	29	0	0	30	5	20743	889	50.9	1.3
*	**Total of Commrs.**	**24674**	**156**	**7821**	**293**	**2678**	**42**	**112283**	**3706**	**645825**	**11854**	49.7	45.6
**	**Total**	**37586**	**186**	**66111**	**3188**	**6337**	**364**	**112850**	**3790**	**1521804**	**59586**	48.9	100.0

प्रकरण - १३

व्यक्ती पोलिसांचे ताब्यात असतांना पोलिसांकडून घडलेले गुन्हे व पोलीस कोठडीतून पलायनाबाबतचे गुन्हे.

१३.१.१ एखाद्या व्यक्तीस ताब्यात घेणे म्हणजे त्याचे स्वातंत्र्यावर बंधन आणणे होय. ताब्यात असलेल्या व्यक्तीचा गैरफायदा घेऊन ज्याचे ताब्यात ती व्यक्ती आहे, ते गुन्हा करतात. वेगवेगळ्या कारणाकरिता व्यक्तीना पोलीस अटकेत / ताब्यात ठेवले जाते, उदा. अटक, रिमांड, बेकायदेशीर ताबा इ. पोलिसांकडून त्या व्यक्तीस मारहाण, त्याचेवर बलात्कार, त्याचे खून असे गुन्हे घडतात. पोलीस कोठडीतील बलात्काराच्या गुन्ह्याबाबत भा.दं.वि. कलम ३७६ (२) प्रमाणे विशेष तरतूद करण्यात आली आहे. पोलीस ताब्यामधील मृत्यू बाबत फौजदारी प्रक्रिया संहिता कलम १७६ मध्ये दिलेल्या तरतुदीप्रमाणे मृत्यूच्या कारणासाठी दंडाधिका-यांमार्फत खास चौकशी करण्यात यावी असे निर्देश आहेत. पोलीस ताब्यातील प्रत्येक मृत्यूमध्ये गुन्हा घडलेला असतो असे नाही, परंतू सदर तपास मनुष्यवधाच्या इतर गुन्ह्यांप्रमाणे केला जातो.

पुढील परिच्छेदात पोलीसांच्या ताब्यात असताना आलेला मृत्यू व पोलीसांच्या ताब्यात असताना झालेल्या बलात्काराच्या गुन्ह्यासंदर्भात चर्चा केलेली आहे.

पोलीस कोठडीतील मृत्यू

१३.२.१ पोलीस कोठडीमधील गुन्हे, विशेषतः पोलीस कोठडीतील मृत्यू याकडे गेल्या काही वर्षात सर्व समाज, प्रसार माध्यमे, विधिमंडळे यांचे लक्ष वेधले गेले आहे. तसेच या बाबत मानवी हक्क आयोगही गांभीर्याने दखल घेतो. सन २०१५ मधील पोलीस कोठडीतील मृत्यूंचे विश्लेषण खालील तक्ता क्र. १३.१ मध्ये दर्शविले आहे.

तक्ता क्र. १३.१ चे निरीक्षण करता, पोलीस कोठडीतील एकूण १९ व्यक्तींच्या मृत्यूपैकी ५ व्यक्तींचा मृत्यू हा न्यायालयाने पोलीस कोठडीत रवानगी केलेल्या व्यक्तींचा असून उर्वरीत १४ व्यक्तींचे मृत्यू हे न्यायालयाने पोलीस कोठडी नाकारलेल्यांपैकी आहेत.

CHAPTER - 13

Custodial Offences & Escape From Police Custody

13.1.1 To take a person into custody means to limit his freedom. Individuals are taken into the police custody for various reasons like arrest, police remand or even unauthorised captivity. Most prevalent crimes in police custody are assaults of various types & rape and murder. For custodial rape, Indian Penal Code provides special provision vide Section 376 (2). When any person dies while in custody of the police, the law requires a mandatory inquiry by the Magistrate into the cause of death (Section 176 of Code of Criminal Proceedings 1973). It is necessary to mention here that every custodial death may not be an offence. However, when any case of custodial death is reported, investigation proceeds as in a case of culpable homicide.

In the following paras, the cases of deaths in police custody and cases of rape in police custody have been discussed.

Death In Police Custody

13.2.1 Custodial crime, which includes death in police custody, has drawn attention of the public, media and legislature. Even the Human Rights Commission has taken serious note of such incidents. The analysis of such death in Police Custody is presented in following Table No. 13.1 for the year 2015.

After observing the table No. 13.1 it is found that, out of 19 deaths in Police Custody, 5 death occured, when persons have been remanded to Police Custody by court. Remaining 14 deaths in Police Custody were of persons not remanded to Police Custody by court.

तक्ता क्र. १३.१

सन २०१५ मधील महाराष्ट्र राज्यातील पोलीस कोठडीतील मृत्यू

Table No. 13.1

Deaths in Police Custody / Lockup in Maharashtra State During - 2015

Sr. No.	Type of Police Custody	Death Reported	Autopsy Conducted	Magistrerial Enquiry Ordered/	Judicial Enquiry Ordered/Conducted	Cases Regd. In Connection with Deaths	Police men Charghsheeted	Police men Convicted
1	Deaths in Pollice Custody / Lockup during 2015 (of persons remanded to police custody by Court)	5	5	0	0	0	0	0
2	Deaths in Pollice Custody / Lockup during 2015 (of persons not remanded to police custody by Court)	14	14	12	0	1	6	0
	M.S. Total	**19**	**19**	**12**	**0**	**1**	**6**	**0**

१३.२.२ सन २०१५ मध्ये महाराष्ट्रातील पोलीस कोठडी मध्ये झालेल्या मृत्यूंच्या कारणांचे वर्गीकरण माहिती खालीलप्रमाणे-

१) पोलीस कोठडीत असताना पोलीसांनी केलेल्या मारहाणीमुळे :-	१	1) Injuries sustained during the police custody due to :- physical assault by police	1
२) आरोपी पोलीस कोठडीत घेण्यापूर्वीच्या जखमा:-	०	2) Injuries sustained prior to police custody:-	0
३) गर्दी मारामारी :-	०	3) Mob Attack/Riots :-	0
४) इतर गुन्हेगारांकडून मारहाण :-	१	4) Assault by other Criminals :-	1
५) आत्महत्या :-	६	5) Suicide :-	6
६) पोलीस कोठडीतून पळून जाताना :-	०	6) While Escaping from Police Custody :-	0
७) आजारपण :-	२	7) Illness :-	2
८) नैसर्गिक मृत्यू :-	२	8)Natural Deaths:-	2
९) रस्त्यावरील अपघात :-	१	9) Road Accident/ Journey connected to Inv. :-	1
१०) रूग्णालयातील देखभाल / उपचार :-	६	10) Hospitalisation :-	6
११) इतर :-	०	11) Others :-	0

घटकानुसार माहिती तक्ता क्रमांक ७९ (क) मध्ये दर्शवीली आहे.

13.2.2 Classification according to reasons of deaths in police custody during 2015, in Maharashtra, is as follows.

Unit-wise information is shown in Table No. 79 (C).

१३.२.३ सन २०१४ व सन २०१५ साली पोलीस कोठडीमध्ये मृत्यू झाल्याबाबतच्या घटनांमध्ये पोलीसांविरुध्द दाखल झालेल्या गुन्ह्यांची माहिती पुढील तक्तात दिली आहे.

13.2.3 Number of offences registered against police personnel in incidences of custodial deaths for the year 2014 and 2015 are given in the following table.

तक्ता क्र. १३.२

सन २०१४ व २०१५ मधील कोठडीतील मृत्यूबाबत पोलीसांविरूध्द दाखल झालेले गुन्हे.

Table No. 13.2

Number of Offences registered in cases of Custodial Deaths against Police During 2014 and 2015

Sr. No.	Year	Number of Offences Registered	Percentage Change during 2015 as Compared to 2014
1	**2014**	4	-
2	**2015**	1	-75.00

१३.२.४ सन २०१४ साली अशा प्रकरणात ४ गुन्हे पोलिसांविरूध्द दाखल झाले. सन २०१५ साली अशा प्रकरणात १ गुन्हा पोलिसांविरूध्द दाखल आहे.

13.2.4 4 offences has been registered against Police during 2014 whereas 1 offence has been registered against Police during 2015.

पोलीस कोठडीतील बलात्कार

१३.३.१ पोलीस कोठडीमध्ये होणा-या बलात्काराकडे नागरिक सर्वसाधारणपणे कायदा राबविणा-या संस्थेवरील कलंक म्हणूनच पाहतात. पोलीस, ज्यांच्याकडे स्त्रिया, मुले, तळागाळातील व्यक्ती यांच्या संरक्षणाची जबाबदारी आहे, तेच बलात्काराच्या गुन्ह्यांमध्ये, विशेषत: पोलीस कोठडीमध्ये होणा-या बलात्कारामध्ये सामील असतील तर समाज त्यांना क्षमा करू शकत नाही. सन २०१५ मध्ये महाराष्ट्र राज्यात पोलिसांविरूध्द एकही गुन्हा दाखल नाही.

Rape in Police Custody

13.3.1 Rape in a police custody is a stigma on the law enforcing agency. Police, which should be the primary insurance of the safety of women, children and downtrodden is not forgiven by the society if they themselves breach that safety and rape women in their custody. There is no case reported in the year 2015 against police personnel in the State.

तक्ता क्र. १३.३

सन २०१४ व २०१५ मधील पोलीस कोठडीतील बलात्काराचे गुन्हे व न्यायालयीन निर्गती

Table No. 13.3

Custodial Rape cases & disposal by courts during 2014 & 2015

SR. NO.	YEAR	SENT FOR TRIAL DURI	FOR TRIAL, INCL. PENDING	COMPOUNDED OR WITHDR	IN WHICH TRIAL IS COMPLE	CONVI-CTED	ACQUIT-TED	% OF TRIAL COMPLETED	CONVIC-TION PERCEN-TAGE
1	2014	0	0	0	0	0	0	0	0
2	2015	0	0	0	0	0	0	0	0

१३.४.१. सन २०१५ साली एकही दोषारोप पत्र पाठविण्यात आले नाही.

13.4.1 No chargesheet has been sent to the court during 2015.

पोलीस कोठडीतील बलात्काराच्या गुन्ह्यांमध्ये अटक झालेले पोलीसकर्मी व त्यांची निर्गती

१३.५.१ सन २०१४ व २०१५ सालामध्ये पोलीस कोठडी मध्ये बलात्काराच्या गुन्ह्यांमध्ये अटक झालेल्या इसमांची पोलीस व न्यायालय यांचेकडून झालेली निर्गती याची माहिती तक्ता क्र. १३.४ मध्ये दर्शविली आहे.

Police Personnel arrested and their disposal in Custodial Rape cases

13.5.1 The Number of personnel arrested in custodial rape cases and their subsequent disposal during 2014 & 2015 is shown in Table No. 13.4

तक्ता क्र. १३.४

२०१४ ते २०१५ मध्ये पोलीस कोठडीतील बलात्कार या गुन्हयांमध्ये अटक झालेले पोलीसकर्मी व त्यांची निर्गती

Table No. 13.4

Police Personnel Arrested And Their Disposal In Custodial Rape Cases 2014 - 2015

SR. NO.	YEAR	NUMBER OF PERSONNEL						% PERSONS CHARGESHEETED	PERCENTAGE OF CONVICTION
		ARRE-STED DURING THEYEAR	UNDER ARREST/BAIL INCL. PERSONS WHOSE CASES WERE PENDING INVESTIGATION IN PREVIOUS YEAR	CHARGE SHEETED	TRIAL COMP-LETED	CONVI-CTED	ACQUIT-TED		
1	2014	0	0	0	0	0	0	0	0
2	2015	0	0	0	0	0	0	0	0

१३.५.२ सन २०१५ साली एकही गुन्हा दाखल नसल्याने सुनावणीस खटला नाही.

13.5.2 As there was no case registered under this head so, no case came on board during 2015.

पोलीस कोठडीतून पलायन

१३.५.३ सन २०१५ मध्ये महाराष्ट्रात पोलीस कोठडीतून १२७ व्यक्तींनी पलायन केले, १०६ गुन्हे (कलम २२४,२२५ (ब)) त्यांच्या विरूध्द दाखल करण्यात आले आहेत, सदर गुन्ह्यांची सांख्यिकी माहिती तक्ता क्र. १३.५ मध्ये दर्शविली आहे. घटक-निहाय माहिती तक्ता क्र. ८२ मध्ये दर्शविली आहे.

Escapes from Police Custody

13.5.3 127 persons escaped from Police Custody, during 2015 in Maharashtra. 106 offences (Section 224, 225 (B)) have been registered against them. Statistical details of such escapes are shown in Table No.13.5. Unit-wise information is shown in Table No.82.

तक्ता क्र. १३.५

पोलीस कोठडीतून पलायन

Table No. 13.5

Escapes from Police Custody

1	**Number of cases registered (sec. 224,225B)**		106
2	**Number of persons escaped in above cases**		127
3	**Details of persons escaped**		
	(i) Escape from lockup		28
	(ii) Escape outside the lock up		99
	Total (i)+(ii)		127
4	**Number of re-arrested**		
	(i)Escapees from lockup		24
	(ii)Other escape		74
5	**Number of persons chargesheeted for offence of escape**	**Number of Cases** 57	**Number of Persons** 65
6	**Disposal by courts**	**Cases Involved**	**Persons involved**
	(i)Number tried	2	2
	(ii)Number convicted	0	0
	(iii)Number acqitted	2	2
	(iv)Number pending for tr	55	54
7	**Number of persons awarded imprisonment on charges of esap**		
	(a) upto 3 years		0
	(b) more than 3 years		0

तक्ता क्र. ७९ (अ)

सन २०१५ मधील पोलीस कोठडीतील मृत्यू (न्यायालयाने पोलीस कोठडीत रवानगी केलेल्या व्यक्ती)

Table No. 79 (A)

Deaths In Police Custody/Lockup (of Persons Remanded To Police Custody by Court) in MAHARASHTRA During 2015

Sr. No.	Unit	Number of						
		Death * or Disappearance Reported	Autopsy Conducted	Judicial Enquiry Ordered	Judicial Enquiry Conducted	Cases Regd. Against Police Personnel In Connection With Deaths	Police-Men Charge Sheeted	Policemen Convicted
1	2	3	4	5	6	7	8	9
1	Akola	0	0	0	0	0	0	0
2	Amravati Rural	0	0	0	0	0	0	0
3	Buldhana	0	0	0	0	0	0	0
4	Yavatmal	0	0	0	0	0	0	0
5	Washim	0	0	0	0	0	0	0
*	**Amravati Range**	**0**	**0**	**0**	**0**	**0**	**0**	**0**
6	Aurangabad Rural	0	0	0	0	0	0	0
7	Jalna	0	0	0	0	0	0	0
8	Beed	0	0	0	0	0	0	0
9	Osmanabad	0	0	0	0	0	0	0
*	**Aurangabad Range**	**0**	**0**	**0**	**0**	**0**	**0**	**0**
10	Nanded	0	0	0	0	0	0	0
11	Latur	0	0	0	0	0	0	0
12	Parbhani	0	0	0	0	0	0	0
13	Hingoli	0	0	0	0	0	0	0
*	**Nanded Range**	**0**	**0**	**0**	**0**	**0**	**0**	**0**
14	Kolhapur	0	0	0	0	0	0	0
15	Pune Rural	1	1	0	0	0	0	0
16	Sangli	0	0	0	0	0	0	0
17	Satara	0	0	0	0	0	0	0
18	Solapur Rural	0	0	0	0	0	0	0
*	**Kolhapur Range**	**1**	**1**	**0**	**0**	**0**	**0**	**0**
19	Bhandara	0	0	0	0	0	0	0
20	Chandrapur	0	0	0	0	0	0	0
21	Nagpur Rural	0	0	0	0	0	0	0
22	Wardha	0	0	0	0	0	0	0
*	**Nagpur Range**	**0**	**0**	**0**	**0**	**0**	**0**	**0**
23	Gadchiroli	0	0	0	0	0	0	0
24	Gondia	0	0	0	0	0	0	0
*	**Gadchiroli Range**	**0**	**0**	**0**	**0**	**0**	**0**	**0**
25	Ahmednagar	1	1	0	0	0	0	0
26	Dhule	0	0	0	0	0	0	0
27	Jalgaon	0	0	0	0	0	0	0
28	Nasik Rural	0	0	0	0	0	0	0
29	Nandurbar	0	0	0	0	0	0	0
*	**Nasik Range**	**1**	**1**	**0**	**0**	**0**	**0**	**0**
30	Raigad	1	1	0	0	0	0	0
31	Ratnagiri	0	0	0	0	0	0	0
32	Sindhudurg	0	0	0	0	0	0	0
33	Thane Rural	0	0	0	0	0	0	0
34	Palghar	0	0	0	0	0	0	0
*	**Thane Range**	**1**	**1**	**0**	**0**	**0**	**0**	**0**
35	Mumbai Railway	0	0	0	0	0	0	0
36	Pune Railway	0	0	0	0	0	0	0
37	Nagpur Railway	0	0	0	0	0	0	0
*	**Railway Range**	**0**	**0**	**0**	**0**	**0**	**0**	**0**
38	Nagpur Commr.	0	0	0	0	0	0	0
39	Pune Commr.	0	0	0	0	0	0	0
40	Thane Commr.	1	1	0	0	0	0	0
41	Mumbai Commr.	1	1	0	0	0	0	0
42	Nasik Commr.	0	0	0	0	0	0	0
43	Aurangabad Commr.	0	0	0	0	0	0	0
44	Solapur Commr.	0	0	0	0	0	0	0
45	Navi Mumbai	0	0	0	0	0	0	0
46	Amravati Commr.	0	0	0	0	0	0	0
*	**Total Commrs.**	**2**	**2**	**0**	**0**	**0**	**0**	**0**
*	**Total of M.S**	**5**	**5**	**0**	**0**	**0**	**0**	**0**

तक्ता क्र. ७९ (ब)

सन २०१५ मधील पोलीस कोठडीतील मृत्यू (न्यायालयाने पोलीस कोठडी नाकारलेल्या व्यक्ती)

Table No. 79 (B)

Deaths In Police Custody / Lockup (of Persons Not Remanded To Police Custody by Court) During 2015

Sr. No.	Unit	Number of						
		Death or Disappearance Reported	Autopsy Conducted	Magestrial Enquiry Ordered	Judicial Enquiry Conducted	Cases Regd. Against police personnel In Connection With Deaths	Policemen Charge Sheeted	Policemen Convicted
1	2	3	4	5	6	7	8	9
1	Akola	0	0	0	0	0	0	0
2	Amravati Rural	0	0	0	0	0	0	0
3	Buldhana	0	0	0	0	0	0	0
4	Yavatmal	0	0	0	0	0	0	0
5	Washim	0	0	0	0	0	0	0
*	**Amravati Range**	**0**	**0**	**0**	**0**	**0**	**0**	**0**
6	Aurangabad Rural	0	0	0	0	0	0	0
7	Jalna	0	0	0	0	0	0	0
8	Beed	1	1	0	0	0	0	0
9	Osmanabad	0	0	0	0	0	0	0
*	**Aurangabad Range**	**1**	**1**	**0**	**0**	**0**	**0**	**0**
10	Nanded	2	2	2	0	0	0	0
11	Latur	0	0	0	0	0	0	0
12	Parbhani	0	0	0	0	0	0	0
13	Hingoli	0	0	0	0	0	0	0
*	**Nanded Range**	**2**	**2**	**2**	**0**	**0**	**0**	**0**
14	Kolhapur	1	1	1	0	0	0	0
15	Pune Rural	0	0	0	0	0	0	0
16	Sangli	0	0	0	0	0	0	0
17	Satara	0	0	0	0	0	0	0
18	Solapur Rural	0	0	0	0	0	0	0
*	**Kolhapur Range**	**1**	**1**	**1**	**0**	**0**	**0**	**0**
19	Bhandara	0	0	0	0	0	0	0
20	Chandrapur	0	0	0	0	0	0	0
21	Nagpur Rural	1	1	1	0	0	0	0
22	Wardha	0	0	0	0	0	0	0
*	**Nagpur Range**	**1**	**1**	**1**	**0**	**0**	**0**	**0**
23	Gadchiroli	0	0	0	0	0	0	0
24	Gondia	0	0	0	0	0	0	0
*	**Gadchiroli Range**	**0**	**0**	**0**	**0**	**0**	**0**	**0**
25	Ahmednagar	1	1	0	0	1	6	0
26	Dhule	0	0	0	0	0	0	0
27	Jalgaon	0	0	0	0	0	0	0
28	Nasik Rural	0	0	0	0	0	0	0
29	Nandurbar	0	0	0	0	0	0	0
*	**Nasik Range**	**1**	**1**	**0**	**0**	**1**	**6**	**0**
30	Raigad	0	0	0	0	0	0	0
31	Ratnagiri	1	1	1	0	0	0	0
32	Sindhudurg	0	0	0	0	0	0	0
33	Thane Rural	0	0	0	0	0	0	0
34	Palghar	0	0	0	0	0	0	0
*	**Thane Range**	**1**	**1**	**1**	**0**	**0**	**0**	**0**
35	Mumbai Railway	0	0	0	0	0	0	0
36	Pune Railway	0	0	0	0	0	0	0
37	Nagpur Railway	0	0	0	0	0	0	0
*	**Railway Range**	**0**	**0**	**0**	**0**	**0**	**0**	**0**
38	Nagpur Commr.	0	0	0	0	0	0	0
39	Pune Commr.	1	1	1	0	0	0	0
40	Thane Commr.	1	1	1	0	0	0	0
41	Mumbai Commr.	4	4	4	0	0	0	0
42	Nasik Commr.	0	0	0	0	0	0	0
43	Aurangabad Commr.	0	0	0	0	0	0	0
44	Solapur Commr.	0	0	0	0	0	0	0
45	Navi Mumbai	1	1	1	0	0	0	0
46	Amravati Commr.	0	0	0	0	0	0	0
*	**Total Commrs.**	**7**	**7**	**7**	**0**	**0**	**0**	**0**
*	**Total of M.S**	**14**	**14**	**12**	**0**	**1**	**6**	**0**

तक्ता क्र. ७९ (क)

सन २०१५ मधील पोलीस कोठडीतील मृत्यूंच्या कारणांचे वर्गीकरण

Table No. 79 (C)

Reasons of Custodial Deaths During 2015

Sr. No.	Unit	Injuries sustained during the police custody due to physical assault by police	Injuries sustained prior to police custody	Mob Attack / Riots	Assault by other Criminals	Suicide	While Escaping from Police Custody	Illness	Natural Deaths	Road Accident/ Journey connected to Inv.	Hospital isation	Others	Total Deaths in Police Custody
1	2	3	4	5	6	7	8	9	10	11	12	13	14
1	Akola	0	0	0	0	0	0	0	0	0	0	0	0
2	Amravati Rural	0	0	0	0	0	0	0	0	0	0	0	0
3	Buldhana	0	0	0	0	0	0	0	0	0	0	0	0
4	Yavatmal	0	0	0	0	0	0	0	0	0	0	0	0
5	Washim	0	0	0	0	0	0	0	0	0	0	0	0
*	**Amravati Range**	**0**	**0**	**0**	**0**	**0**	**0**	**0**	**0**	**0**	**0**	**0**	**0**
6	Aurangabad Rural	0	0	0	0	0	0	0	0	0	0	0	0
7	Jalna	0	0	0	0	0	0	0	0	0	0	0	0
8	Beed	0	0	0	0	0	0	0	0	1	0	0	1
9	Osmanabad	0	0	0	0	0	0	0	0	0	0	0	0
*	**Aurangabad Range**	**0**	**0**	**0**	**0**	**0**	**0**	**0**	**0**	**1**	**0**	**0**	**1**
10	Nanded	0	0	0	0	1	0	0	1	0	0	0	2
11	Latur	0	0	0	0	0	0	0	0	0	0	0	0
12	Parbhani	0	0	0	0	0	0	0	0	0	0	0	0
13	Hingoli	0	0	0	0	0	0	0	0	0	0	0	0
*	**Nanded Range**	**0**	**0**	**0**	**0**	**1**	**0**	**0**	**1**	**0**	**0**	**0**	**2**
14	Kolhapur	0	0	0	0	0	0	0	0	0	1	0	1
15	Pune Rural	0	0	0	0	0	0	1	0	0	0	0	1
16	Sangli	0	0	0	0	0	0	0	0	0	0	0	0
17	Satara	0	0	0	0	0	0	0	0	0	0	0	0
18	Solapur Rural	0	0	0	0	0	0	0	0	0	0	0	0
*	**Kolhapur Range**	**0**	**0**	**0**	**0**	**0**	**0**	**1**	**0**	**0**	**1**	**0**	**2**
19	Bhandara	0	0	0	0	0	0	0	0	0	0	0	0
20	Chandrapur	0	0	0	0	0	0	0	0	0	0	0	0
21	Nagpur Rural	0	0	0	0	1	0	0	0	0	0	0	1
22	Wardha	0	0	0	0	0	0	0	0	0	0	0	0
*	**Nagpur Range**	**0**	**0**	**0**	**0**	**1**	**0**	**0**	**0**	**0**	**0**	**0**	**1**
23	Gadchiroli	0	0	0	0	0	0	0	0	0	0	0	0
24	Gondia	0	0	0	0	0	0	0	0	0	0	0	0
*	**Gadchiroli Range**	**0**	**0**	**0**	**0**	**0**	**0**	**0**	**0**	**0**	**0**	**0**	**0**
25	Ahmednagar	1	0	0	0	1	0	0	0	0	0	0	2
26	Dhule	0	0	0	0	0	0	0	0	0	0	0	0
27	Jalgaon	0	0	0	0	0	0	0	0	0	0	0	0
28	Nasik Rural	0	0	0	0	0	0	0	0	0	0	0	0
29	Nandurbar	0	0	0	0	0	0	0	0	0	0	0	0
*	**Nasik Range**	**1**	**0**	**0**	**0**	**1**	**0**	**0**	**0**	**0**	**0**	**0**	**2**
30	Raigad	0	0	0	0	0	0	0	0	0	1	0	1
31	Ratnagiri	0	0	0	0	0	0	0	0	0	1	0	1
32	Sindhudurg	0	0	0	0	0	0	0	0	0	0	0	0
33	Thane Rural	0	0	0	0	0	0	0	0	0	0	0	0
34	Palghar	0	0	0	0	0	0	0	0	0	0	0	0
*	**Thane Range**	**0**	**0**	**0**	**0**	**0**	**0**	**0**	**0**	**0**	**2**	**0**	**2**
35	Mumbai Railway	0	0	0	0	0	0	0	0	0	0	0	0
36	Pune Railway	0	0	0	0	0	0	0	0	0	0	0	0
37	Nagpur Railway	0	0	0	0	0	0	0	0	0	0	0	0
*	**Railway Range**	**0**	**0**	**0**	**0**	**0**	**0**	**0**	**0**	**0**	**0**	**0**	**0**
38	Nagpur Commr.	0	0	0	0	0	0	0	0	0	0	0	0
39	Pune Commr.	0	0	0	0	0	0	0	1	0	0	0	1
40	Thane Commr.	0	0	0	0	0	0	0	0	0	2	0	2
41	Mumbai Commr.	0	0	0	1	2	0	1	0	0	1	0	5
42	Nasik Commr.	0	0	0	0	0	0	0	0	0	0	0	0
43	Aurangabad Commr.	0	0	0	0	0	0	0	0	0	0	0	0
44	Solapur Commr.	0	0	0	0	0	0	0	0	0	0	0	0
45	Navi Mumbai	0	0	0	0	1	0	0	0	0	0	0	1
46	Amravati Commr.	0	0	0	0	0	0	0	0	0	0	0	0
*	**Total Commrs.**	**0**	**0**	**0**	**1**	**3**	**0**	**1**	**1**	**0**	**3**	**0**	**9**
*	**Total of M.S**	**1**	**0**	**0**	**1**	**6**	**0**	**2**	**2**	**1**	**6**	**0**	**19**

तक्ता क्र. ८०

सन २०१५ मधील पोलीस कोठडीतील बलात्काराचे गुन्हे व न्यायालयीन निर्गती

Table No. 80

Reported Custodial Rape Cases and Their Disposal by Police and Courts During 2015

Sr. No.	Unit	INVESTIGATION-STAGE							
		Cases Pending Investiga-tion From Previous Year	Cases Reported - U/S 156(3) Cr.P.C.	Cases Reported - Police Station	Cases Reported - Total	No. of victims in the registered cases	No. of cases withdrawn by the Govt. during investigation	Cases not investigated U/S 157(1)(b) of Cr.PC	Cases transferred to other Police Station/Magistrate
1	2	3	4	5	6	7	8	9	10
1	Akola	0	0	0	0	0	0	0	0
2	Amravati Rural	0	0	0	0	0	0	0	0
3	Buldhana	0	0	0	0	0	0	0	0
4	Yavatmal	0	0	0	0	0	0	0	0
5	Washim	0	0	0	0	0	0	0	0
*	**Amravati Range**	**0**	**0**	**0**	**0**	**0**	**0**	**0**	**0**
6	Aurangabad Rural	0	0	0	0	0	0	0	0
7	Jalna	0	0	0	0	0	0	0	0
8	Beed	0	0	0	0	0	0	0	0
9	Osmanabad	0	0	0	0	0	0	0	0
*	**Aurangabad Range**	**0**	**0**	**0**	**0**	**0**	**0**	**0**	**0**
10	Nanded	0	0	0	0	0	0	0	0
11	Latur	0	0	0	0	0	0	0	0
12	Parbhani	0	0	0	0	0	0	0	0
13	Hingoli	0	0	0	0	0	0	0	0
*	**Nanded Range**	**0**	**0**	**0**	**0**	**0**	**0**	**0**	**0**
14	Kolhapur	0	0	0	0	0	0	0	0
15	Pune Rural	0	0	0	0	0	0	0	0
16	Sangli	0	0	0	0	0	0	0	0
17	Satara	0	0	0	0	0	0	0	0
18	Solapur Rural	0	0	0	0	0	0	0	0
*	**Kolhapur Range**	**0**	**0**	**0**	**0**	**0**	**0**	**0**	**0**
19	Bhandara	0	0	0	0	0	0	0	0
20	Chandrapur	0	0	0	0	0	0	0	0
21	Nagpur Rural	0	0	0	0	0	0	0	0
22	Wardha	0	0	0	0	0	0	0	0
*	**Nagpur Range**	**0**	**0**	**0**	**0**	**0**	**0**	**0**	**0**
23	Gadchiroli	0	0	0	0	0	0	0	0
24	Gondia	0	0	0	0	0	0	0	0
*	**Gadchiroli Range**	**0**	**0**	**0**	**0**	**0**	**0**	**0**	**0**
25	Ahmednagar	0	0	0	0	0	0	0	0
26	Dhule	0	0	0	0	0	0	0	0
27	Jalgaon	0	0	0	0	0	0	0	0
28	Nasik Rural	0	0	0	0	0	0	0	0
29	Nandurbar	0	0	0	0	0	0	0	0
*	**Nasik Range**	**0**	**0**	**0**	**0**	**0**	**0**	**0**	**0**
30	Raigad	0	0	0	0	0	0	0	0
31	Ratnagiri	0	0	0	0	0	0	0	0
32	Sindhudurg	0	0	0	0	0	0	0	0
33	Thane Rural	0	0	0	0	0	0	0	0
34	Palghar	0	0	0	0	0	0	0	0
*	**Thane Range**	**0**	**0**	**0**	**0**	**0**	**0**	**0**	**0**
35	Mumbai Railway	0	0	0	0	0	0	0	0
36	Pune Railway	0	0	0	0	0	0	0	0
37	Nagpur Railway	0	0	0	0	0	0	0	0
*	**Railway Range**	**0**	**0**	**0**	**0**	**0**	**0**	**0**	**0**
38	Nagpur Commr.	0	0	0	0	0	0	0	0
39	Pune Commr.	0	0	0	0	0	0	0	0
40	Thane Commr.	0	0	0	0	0	0	0	0
41	Mumbai Commr.	0	0	0	0	0	0	0	0
42	Nasik Commr.	0	0	0	0	0	0	0	0
43	Aurangabad Commr.	0	0	0	0	0	0	0	0
44	Solapur Commr.	0	0	0	0	0	0	0	0
45	Navi Mumbai	0	0	0	0	0	0	0	0
46	Amravati Commr.	0	0	0	0	0	0	0	0
*	**Total Commrs.**	**0**	**0**	**0**	**0**	**0**	**0**	**0**	**0**
*	**Total of M.S**	**0**	**0**	**0**	**0**	**0**	**0**	**0**	**0**

तक्ता क्र. ८० (चालू)

TABLE NO. 80 (Continued)

Sr. No.	Unit	INVESTIGATION-STAGE						
		Cases ended as final report false	Cases ended as mistake of fact or of law	Cases in ended as final report as Non Cognizable Submitted	Cases in which charge-sheets were submitted	Cases in which charge-sheets were not laid but final report as True submitted during the year	Total cases	Cases pending investigation at the end of the year
1	2	11	12	13	14	15	16	17
1	Akola	0	0	0	0	0	0	0
2	Amravati Rural	0	0	0	0	0	0	0
3	Buldhana	0	0	0	0	0	0	0
4	Yavatmal	0	0	0	0	0	0	0
5	Washim	0	0	0	0	0	0	0
*	**Amravati Range**	**0**	**0**	**0**	**0**	**0**	**0**	**0**
6	Aurangabad Rural	0	0	0	0	0	0	0
7	Jalna	0	0	0	0	0	0	0
8	Beed	0	0	0	0	0	0	0
9	Osmanabad	0	0	0	0	0	0	0
*	**Aurangabad Range**	**0**	**0**	**0**	**0**	**0**	**0**	**0**
10	Nanded	0	0	0	0	0	0	0
11	Latur	0	0	0	0	0	0	0
12	Parbhani	0	0	0	0	0	0	0
13	Hingoli	0	0	0	0	0	0	0
*	**Nanded Range**	**0**	**0**	**0**	**0**	**0**	**0**	**0**
14	Kolhapur	0	0	0	0	0	0	0
15	Pune Rural	0	0	0	0	0	0	0
16	Sangli	0	0	0	0	0	0	0
17	Satara	0	0	0	0	0	0	0
18	Solapur Rural	0	0	0	0	0	0	0
*	**Kolhapur Range**	**0**	**0**	**0**	**0**	**0**	**0**	**0**
19	Bhandara	0	0	0	0	0	0	0
20	Chandrapur	0	0	0	0	0	0	0
21	Nagpur Rural	0	0	0	0	0	0	0
22	Wardha	0	0	0	0	0	0	0
*	**Nagpur Range**	**0**	**0**	**0**	**0**	**0**	**0**	**0**
23	Gadchiroli	0	0	0	0	0	0	0
24	Gondia	0	0	0	0	0	0	0
*	**Gadchiroli Range**	**0**	**0**	**0**	**0**	**0**	**0**	**0**
25	Ahmednagar	0	0	0	0	0	0	0
26	Dhule	0	0	0	0	0	0	0
27	Jalgaon	0	0	0	0	0	0	0
28	Nasik Rural	0	0	0	0	0	0	0
29	Nandurbar	0	0	0	0	0	0	0
*	**Nasik Range**	**0**	**0**	**0**	**0**	**0**	**0**	**0**
30	Raigad	0	0	0	0	0	0	0
31	Ratnagiri	0	0	0	0	0	0	0
32	Sindhudurg	0	0	0	0	0	0	0
33	Thane Rural	0	0	0	0	0	0	0
34	Palghar	0	0	0	0	0	0	0
*	**Thane Range**	**0**	**0**	**0**	**0**	**0**	**0**	**0**
35	Mumbai Railway	0	0	0	0	0	0	0
36	Pune Railway	0	0	0	0	0	0	0
37	Nagpur Railway	0	0	0	0	0	0	0
*	**Railway Range**	**0**	**0**	**0**	**0**	**0**	**0**	**0**
38	Nagpur Commr.	0	0	0	0	0	0	0
39	Pune Commr.	0	0	0	0	0	0	0
40	Thane Commr.	0	0	0	0	0	0	0
41	Mumbai Commr.	0	0	0	0	0	0	0
42	Nasik Commr.	0	0	0	0	0	0	0
43	Aurangabad Commr.	0	0	0	0	0	0	0
44	Solapur Commr.	0	0	0	0	0	0	0
45	Navi Mumbai	0	0	0	0	0	0	0
46	Amravati Commr.	0	0	0	0	0	0	0
*	**Total Commrs.**	**0**	**0**	**0**	**0**	**0**	**0**	**0**
*	**Total of M.S**	**0**	**0**	**0**	**0**	**0**	**0**	**0**

तक्ता क्र. ८० (पूर्ण)

Table No. 80 (CONCLUDED)

Sr. No.	Unit	TRIAL-STAGE					TRIAL-STAGE				
		Cases pending trial from the previous year	Cases sent for trial during the year	No. of cases withdrawn by the Govt.	No. Of cases disposed by Plea Bargaining.	Total no. Of cases for trial during the year	Cases Compounded or Withdrawn	Cases in Which Trials were Completed	Cases Convicted	Cases Acquitted or Discharged	Cases Pending Trial at the End of the year
1	2	18	19	20	21	22	23	24	25	26	27
1	Akola	0	0	0	0	0	0	0	0	0	0
2	Amravati Rural	0	0	0	0	0	0	0	0	0	0
3	Buldhana	0	0	0	0	0	0	0	0	0	0
4	Yavatmal	0	0	0	0	0	0	0	0	0	0
5	Washim	0	0	0	0	0	0	0	0	0	0
*	**Amravati Range**	**0**	**0**	**0**	**0**	**0**	**0**	**0**	**0**	**0**	**0**
6	Aurangabad Rural	0	0	0	0	0	0	0	0	0	0
7	Jalna	0	0	0	0	0	0	0	0	0	0
8	Beed	0	0	0	0	0	0	0	0	0	0
9	Osmanabad	0	0	0	0	0	0	0	0	0	0
*	**Aurangabad Range**	**0**	**0**	**0**	**0**	**0**	**0**	**0**	**0**	**0**	**0**
10	Nanded	0	0	0	0	0	0	0	0	0	0
11	Latur	0	0	0	0	0	0	0	0	0	0
12	Parbhani	0	0	0	0	0	0	0	0	0	0
13	Hingoli	0	0	0	0	0	0	0	0	0	0
*	**Nanded Range**	**0**	**0**	**0**	**0**	**0**	**0**	**0**	**0**	**0**	**0**
14	Kolhapur	0	0	0	0	0	0	0	0	0	0
15	Pune Rural	0	0	0	0	0	0	0	0	0	0
16	Sangli	0	0	0	0	0	0	0	0	0	0
17	Satara	0	0	0	0	0	0	0	0	0	0
18	Solapur Rural	0	0	0	0	0	0	0	0	0	0
*	**Kolhapur Range**	**0**	**0**	**0**	**0**	**0**	**0**	**0**	**0**	**0**	**0**
19	Bhandara	0	0	0	0	0	0	0	0	0	0
20	Chandrapur	0	0	0	0	0	0	0	0	0	0
21	Nagpur Rural	0	0	0	0	0	0	0	0	0	0
22	Wardha	0	0	0	0	0	0	0	0	0	0
*	**Nagpur Range**	**0**	**0**	**0**	**0**	**0**	**0**	**0**	**0**	**0**	**0**
23	Gadchiroli	0	0	0	0	0	0	0	0	0	0
24	Gondia	0	0	0	0	0	0	0	0	0	0
*	**Gadchiroli Range**	**0**	**0**	**0**	**0**	**0**	**0**	**0**	**0**	**0**	**0**
25	Ahmednagar	0	0	0	0	0	0	0	0	0	0
26	Dhule	0	0	0	0	0	0	0	0	0	0
27	Jalgaon	0	0	0	0	0	0	0	0	0	0
28	Nasik Rural	0	0	0	0	0	0	0	0	0	0
29	Nandurbar	0	0	0	0	0	0	0	0	0	0
*	**Nasik Range**	**0**	**0**	**0**	**0**	**0**	**0**	**0**	**0**	**0**	**0**
30	Raigad	0	0	0	0	0	0	0	0	0	0
31	Ratnagiri	0	0	0	0	0	0	0	0	0	0
32	Sindhudurg	0	0	0	0	0	0	0	0	0	0
33	Thane Rural	0	0	0	0	0	0	0	0	0	0
34	Palghar	0	0	0	0	0	0	0	0	0	0
*	**Thane Range**	**0**	**0**	**0**	**0**	**0**	**0**	**0**	**0**	**0**	**0**
35	Mumbai Railway	0	0	0	0	0	0	0	0	0	0
36	Pune Railway	0	0	0	0	0	0	0	0	0	0
37	Nagpur Railway	0	0	0	0	0	0	0	0	0	0
*	**Railway Range**	**0**	**0**	**0**	**0**	**0**	**0**	**0**	**0**	**0**	**0**
38	Nagpur Commr.	0	0	0	0	0	0	0	0	0	0
39	Pune Commr.	0	0	0	0	0	0	0	0	0	0
40	Thane Commr.	0	0	0	0	0	0	0	0	0	0
41	Mumbai Commr.	0	0	0	0	0	0	0	0	0	0
42	Nasik Commr.	0	0	0	0	0	0	0	0	0	0
43	Aurangabad Commr.	0	0	0	0	0	0	0	0	0	0
44	Solapur Commr.	0	0	0	0	0	0	0	0	0	0
45	Navi Mumbai	0	0	0	0	0	0	0	0	0	0
46	Amravati Commr.	0	0	0	0	0	0	0	0	0	0
*	**Total Commrs.**	**0**	**0**	**0**	**0**	**0**	**0**	**0**	**0**	**0**	**0**
*	**Total of M.S**	0	0	0	0	0	0	0	0	0	0

तक्ता क्र. ८१

सन २०१५ मध्ये पोलीस कोठडीतील बलात्काराच्या गुन्हयांमध्ये अटक झालेल्या व्यक्ती व त्यांची निर्गती

Table 81

Persons Arrested under Custodial Rape and Their Disposal by Police and Courts During 2015

Sr. No.	Unit	Persons in custody during the stage of investigation at the beginning of the year		Persons on bail during the stage of investigation at the beginning of the year		Persons arrested during the year	
		Male	Female	Male	Female	Male	Female
1	2	3	4	5	6	7	8
1	Akola	0	0	0	0	0	0
2	Amravati Rural	0	0	0	0	0	0
3	Buldhana	0	0	0	0	0	0
4	Yavatmal	0	0	0	0	0	0
5	Washim	0	0	0	0	0	0
*	**Amravati Range**	**0**	**0**	**0**	**0**	**0**	**0**
6	Aurangabad Rural	0	0	0	0	0	0
7	Jalna	0	0	0	0	0	0
8	Beed	0	0	0	0	0	0
9	Osmanabad	0	0	0	0	0	0
*	**Aurangabad Range**	**0**	**0**	**0**	**0**	**0**	**0**
10	Nanded	0	0	0	0	0	0
11	Latur	0	0	0	0	0	0
12	Parbhani	0	0	0	0	0	0
13	Hingoli	0	0	0	0	0	0
*	**Nanded Range**	**0**	**0**	**0**	**0**	**0**	**0**
14	Kolhapur	0	0	0	0	0	0
15	Pune Rural	0	0	0	0	0	0
16	Sangli	0	0	0	0	0	0
17	Satara	0	0	0	0	0	0
18	Solapur Rural	0	0	0	0	0	0
*	**Kolhapur Range**	**0**	**0**	**0**	**0**	**0**	**0**
19	Bhandara	0	0	0	0	0	0
20	Chandrapur	0	0	0	0	0	0
21	Nagpur Rural	0	0	0	0	0	0
22	Wardha	0	0	0	0	0	0
*	**Nagpur Range**	**0**	**0**	**0**	**0**	**0**	**0**
23	Gadchiroli	0	0	0	0	0	0
24	Gondia	0	0	0	0	0	0
*	**Gadchiroli Range**	**0**	**0**	**0**	**0**	**0**	**0**
25	Ahmednagar	0	0	0	0	0	0
26	Dhule	0	0	0	0	0	0
27	Jalgaon	0	0	0	0	0	0
28	Nasik Rural	0	0	0	0	0	0
29	Nandurbar	0	0	0	0	0	0
*	**Nasik Range**	**0**	**0**	**0**	**0**	**0**	**0**
30	Raigad	0	0	0	0	0	0
31	Ratnagiri	0	0	0	0	0	0
32	Sindhudurg	0	0	0	0	0	0
33	Thane Rural	0	0	0	0	0	0
34	Palghar	0	0	0	0	0	0
*	**Thane Range**	**0**	**0**	**0**	**0**	**0**	**0**
35	Mumbai Railway	0	0	0	0	0	0
36	Pune Railway	0	0	0	0	0	0
37	Nagpur Railway	0	0	0	0	0	0
*	**Railway Range**	**0**	**0**	**0**	**0**	**0**	**0**
38	Nagpur Commr.	0	0	0	0	0	0
39	Pune Commr.	0	0	0	0	0	0
40	Thane Commr.	0	0	0	0	0	0
41	Mumbai Commr.	0	0	0	0	0	0
42	Nasik Commr.	0	0	0	0	0	0
43	Aurangabad Commr.	0	0	0	0	0	0
44	Solapur Commr.	0	0	0	0	0	0
45	Navi Mumbai	0	0	0	0	0	0
46	Amravati Commr.	0	0	0	0	0	0
*	**Total Commrs.**	**0**	**0**	**0**	**0**	**0**	**0**
*	**Total of M.S**	**0**	**0**	**0**	**0**	**0**	**0**

तक्ता क्र. ८१ (चालू)

TABLE NO. 81 (Continued)

Sr. No.	Unit	Persons released or freed by Police or Magistrate before trial for want of evidence or any other reason		Persons in custody during the stage of investigation at the end of the year		Persons on bail during the stage of investigation at the end of the year		Number of Persons charge sheeted during the year	
		Male	Female	Male	Female	Male	Female	Male	Female
1	2	9	10	11	12	13	14	15	16
1	Akola	0	0	0	0	0	0	0	0
2	Amravati Rural	0	0	0	0	0	0	0	0
3	Buldhana	0	0	0	0	0	0	0	0
4	Yavatmal	0	0	0	0	0	0	0	0
5	Washim	0	0	0	0	0	0	0	0
*	**Amravati Range**	**0**	**0**	**0**	**0**	**0**	**0**	**0**	**0**
6	Aurangabad Rural	0	0	0	0	0	0	0	0
7	Jalna	0	0	0	0	0	0	0	0
8	Beed	0	0	0	0	0	0	0	0
9	Osmanabad	0	0	0	0	0	0	0	0
*	**Aurangabad Range**	**0**	**0**	**0**	**0**	**0**	**0**	**0**	**0**
10	Nanded	0	0	0	0	0	0	0	0
11	Latur	0	0	0	0	0	0	0	0
12	Parbhani	0	0	0	0	0	0	0	0
13	Hingoli	0	0	0	0	0	0	0	0
*	**Nanded Range**	**0**	**0**	**0**	**0**	**0**	**0**	**0**	**0**
14	Kolhapur	0	0	0	0	0	0	0	0
15	Pune Rural	0	0	0	0	0	0	0	0
16	Sangli	0	0	0	0	0	0	0	0
17	Satara	0	0	0	0	0	0	0	0
18	Solapur Rural	0	0	0	0	0	0	0	0
*	**Kolhapur Range**	**0**	**0**	**0**	**0**	**0**	**0**	**0**	**0**
19	Bhandara	0	0	0	0	0	0	0	0
20	Chandrapur	0	0	0	0	0	0	0	0
21	Nagpur Rural	0	0	0	0	0	0	0	0
22	Wardha	0	0	0	0	0	0	0	0
*	**Nagpur Range**	**0**	**0**	**0**	**0**	**0**	**0**	**0**	**0**
23	Gadchiroli	0	0	0	0	0	0	0	0
24	Gondia	0	0	0	0	0	0	0	0
*	**Gadchiroli Range**	**0**	**0**	**0**	**0**	**0**	**0**	**0**	**0**
25	Ahmednagar	0	0	0	0	0	0	0	0
26	Dhule	0	0	0	0	0	0	0	0
27	Jalgaon	0	0	0	0	0	0	0	0
28	Nasik Rural	0	0	0	0	0	0	0	0
29	Nandurbar	0	0	0	0	0	0	0	0
*	**Nasik Range**	**0**	**0**	**0**	**0**	**0**	**0**	**0**	**0**
30	Raigad	0	0	0	0	0	0	0	0
31	Ratnagiri	0	0	0	0	0	0	0	0
32	Sindhudurg	0	0	0	0	0	0	0	0
33	Thane Rural	0	0	0	0	0	0	0	0
34	Palghar	0	0	0	0	0	0	0	0
*	**Thane Range**	**0**	**0**	**0**	**0**	**0**	**0**	**0**	**0**
35	Mumbai Railway	0	0	0	0	0	0	0	0
36	Pune Railway	0	0	0	0	0	0	0	0
37	Nagpur Railway	0	0	0	0	0	0	0	0
*	**Railway Range**	**0**	**0**	**0**	**0**	**0**	**0**	**0**	**0**
38	Nagpur Commr.	0	0	0	0	0	0	0	0
39	Pune Commr.	0	0	0	0	0	0	0	0
40	Thane Commr.	0	0	0	0	0	0	0	0
41	Mumbai Commr.	0	0	0	0	0	0	0	0
42	Nasik Commr.	0	0	0	0	0	0	0	0
43	Aurangabad Commr.	0	0	0	0	0	0	0	0
44	Solapur Commr.	0	0	0	0	0	0	0	0
45	Navi Mumbai	0	0	0	0	0	0	0	0
46	Amravati Commr.	0	0	0	0	0	0	0	0
*	**Total Commrs.**	**0**	**0**	**0**	**0**	**0**	**0**	**0**	**0**
*	**Total of M.S**	**0**	**0**	**0**	**0**	**0**	**0**	**0**	**0**

तक्ता क्र. ८१ (चालू)

TABLE NO. 81 (Continued)

Sr. No.	Unit	Persons in custody during the stage of trial at the beginning of the year		Persons on bail during the stage of trial at the beginning of the year		Total number of persons under trial during the year		Persons against whom cases were compounded by Courts		Persons against whom cases were withdrawn	
		Male	Female	Male	Female	Male	Female	Male	Female	Male	Female
1	2	17	18	19	20	21	22	23	24	25	26
1	Akola	0	0	0	0	0	0	0	0	0	0
2	Amravati Rural	0	0	0	0	0	0	0	0	0	0
3	Buldhana	0	0	0	0	0	0	0	0	0	0
4	Yavatmal	0	0	0	0	0	0	0	0	0	0
5	Washim	0	0	0	0	0	0	0	0	0	0
*	**Amravati Range**	**0**	**0**	**0**	**0**	**0**	**0**	**0**	**0**	**0**	**0**
6	Aurangabad Rural	0	0	0	0	0	0	0	0	0	0
7	Jalna	0	0	0	0	0	0	0	0	0	0
8	Beed	0	0	0	0	0	0	0	0	0	0
9	Osmanabad	0	0	0	0	0	0	0	0	0	0
*	**Aurangabad Range**	**0**	**0**	**0**	**0**	**0**	**0**	**0**	**0**	**0**	**0**
10	Nanded	0	0	0	0	0	0	0	0	0	0
11	Latur	0	0	0	0	0	0	0	0	0	0
12	Parbhani	0	0	0	0	0	0	0	0	0	0
13	Hingoli	0	0	0	0	0	0	0	0	0	0
*	**Nanded Range**	**0**	**0**	**0**	**0**	**0**	**0**	**0**	**0**	**0**	**0**
14	Kolhapur	0	0	0	0	0	0	0	0	0	0
15	Pune Rural	0	0	0	0	0	0	0	0	0	0
16	Sangli	0	0	0	0	0	0	0	0	0	0
17	Satara	0	0	0	0	0	0	0	0	0	0
18	Solapur Rural	0	0	0	0	0	0	0	0	0	0
*	**Kolhapur Range**	**0**	**0**	**0**	**0**	**0**	**0**	**0**	**0**	**0**	**0**
19	Bhandara	0	0	0	0	0	0	0	0	0	0
20	Chandrapur	0	0	0	0	0	0	0	0	0	0
21	Nagpur Rural	0	0	0	0	0	0	0	0	0	0
22	Wardha	0	0	0	0	0	0	0	0	0	0
*	**Nagpur Range**	**0**	**0**	**0**	**0**	**0**	**0**	**0**	**0**	**0**	**0**
23	Gadchiroli	0	0	0	0	0	0	0	0	0	0
24	Gondia	0	0	0	0	0	0	0	0	0	0
*	**Gadchiroli Range**	**0**	**0**	**0**	**0**	**0**	**0**	**0**	**0**	**0**	**0**
25	Ahmednagar	0	0	0	0	0	0	0	0	0	0
26	Dhule	0	0	0	0	0	0	0	0	0	0
27	Jalgaon	0	0	0	0	0	0	0	0	0	0
28	Nasik Rural	0	0	0	0	0	0	0	0	0	0
29	Nandurbar	0	0	0	0	0	0	0	0	0	0
*	**Nasik Range**	**0**	**0**	**0**	**0**	**0**	**0**	**0**	**0**	**0**	**0**
30	Raigad	0	0	0	0	0	0	0	0	0	0
31	Ratnagiri	0	0	0	0	0	0	0	0	0	0
32	Sindhudurg	0	0	0	0	0	0	0	0	0	0
33	Thane Rural	0	0	0	0	0	0	0	0	0	0
34	Palghar	0	0	0	0	0	0	0	0	0	0
*	**Thane Range**	**0**	**0**	**0**	**0**	**0**	**0**	**0**	**0**	**0**	**0**
35	Mumbai Railway	0	0	0	0	0	0	0	0	0	0
36	Pune Railway	0	0	0	0	0	0	0	0	0	0
37	Nagpur Railway	0	0	0	0	0	0	0	0	0	0
*	**Railway Range**	**0**	**0**	**0**	**0**	**0**	**0**	**0**	**0**	**0**	**0**
38	Nagpur Commr.	0	0	0	0	0	0	0	0	0	0
39	Pune Commr.	0	0	0	0	0	0	0	0	0	0
40	Thane Commr.	0	0	0	0	0	0	0	0	0	0
41	Mumbai Commr.	0	0	0	0	0	0	0	0	0	0
42	Nasik Commr.	0	0	0	0	0	0	0	0	0	0
43	Aurangabad Commr.	0	0	0	0	0	0	0	0	0	0
44	Solapur Commr.	0	0	0	0	0	0	0	0	0	0
45	Navi Mumbai	0	0	0	0	0	0	0	0	0	0
46	Amravati Commr.	0	0	0	0	0	0	0	0	0	0
*	**Total Commrs.**	**0**	**0**	**0**	**0**	**0**	**0**	**0**	**0**	**0**	**0**
*	**Total of M.S**	**0**	**0**	**0**	**0**	**0**	**0**	**0**	**0**	**0**	**0**

तक्ता क्र. ८१ (पूर्ण)

Table No. 81 (CONCLUDED)

Sr. No.	Unit	Persons in custody during the stage of trial at the end of the year		Persons on bail during the stage of trial at the end of the year		Persons in whose cases trials were completed during the year		Persons convicted		Persons acquitted		Persons Discharged by Court	
		Male	Female	Male	Female	Male	Female	Male	Female	Male	Female	Male	Female
1	2	27	28	29	30	31	32	33	34	35	36	37	38
1	Akola	0	0	0	0	0	0	0	0	0	0	0	0
2	Amravati Rural	0	0	0	0	0	0	0	0	0	0	0	0
3	Buldhana	0	0	0	0	0	0	0	0	0	0	0	0
4	Yavatmal	0	0	0	0	0	0	0	0	0	0	0	0
5	Washim	0	0	0	0	0	0	0	0	0	0	0	0
*	**Amravati Range**	**0**	**0**	**0**	**0**	**0**	**0**	**0**	**0**	**0**	**0**	**0**	**0**
6	Aurangabad Rural	0	0	0	0	0	0	0	0	0	0	0	0
7	Jalna	0	0	0	0	0	0	0	0	0	0	0	0
8	Beed	0	0	0	0	0	0	0	0	0	0	0	0
9	Osmanabad	0	0	0	0	0	0	0	0	0	0	0	0
*	**Aurangabad Range**	**0**	**0**	**0**	**0**	**0**	**0**	**0**	**0**	**0**	**0**	**0**	**0**
10	Nanded	0	0	0	0	0	0	0	0	0	0	0	0
11	Latur	0	0	0	0	0	0	0	0	0	0	0	0
12	Parbhani	0	0	0	0	0	0	0	0	0	0	0	0
13	Hingoli	0	0	0	0	0	0	0	0	0	0	0	0
*	**Nanded Range**	**0**	**0**	**0**	**0**	**0**	**0**	**0**	**0**	**0**	**0**	**0**	**0**
14	Kolhapur	0	0	0	0	0	0	0	0	0	0	0	0
15	Pune Rural	0	0	0	0	0	0	0	0	0	0	0	0
16	Sangli	0	0	0	0	0	0	0	0	0	0	0	0
17	Satara	0	0	0	0	0	0	0	0	0	0	0	0
18	Solapur Rural	0	0	0	0	0	0	0	0	0	0	0	0
*	**Kolhapur Range**	**0**	**0**	**0**	**0**	**0**	**0**	**0**	**0**	**0**	**0**	**0**	**0**
19	Bhandara	0	0	0	0	0	0	0	0	0	0	0	0
20	Chandrapur	0	0	0	0	0	0	0	0	0	0	0	0
21	Nagpur Rural	0	0	0	0	0	0	0	0	0	0	0	0
22	Wardha	0	0	0	0	0	0	0	0	0	0	0	0
*	**Nagpur Range**	**0**	**0**	**0**	**0**	**0**	**0**	**0**	**0**	**0**	**0**	**0**	**0**
23	Gadchiroli	0	0	0	0	0	0	0	0	0	0	0	0
24	Gondia	0	0	0	0	0	0	0	0	0	0	0	0
*	**Gadchiroli Range**	**0**	**0**	**0**	**0**	**0**	**0**	**0**	**0**	**0**	**0**	**0**	**0**
25	Ahmednagar	0	0	0	0	0	0	0	0	0	0	0	0
26	Dhule	0	0	0	0	0	0	0	0	0	0	0	0
27	Jalgaon	0	0	0	0	0	0	0	0	0	0	0	0
28	Nasik Rural	0	0	0	0	0	0	0	0	0	0	0	0
29	Nandurbar	0	0	0	0	0	0	0	0	0	0	0	0
*	**Nasik Range**	**0**	**0**	**0**	**0**	**0**	**0**	**0**	**0**	**0**	**0**	**0**	**0**
30	Raigad	0	0	0	0	0	0	0	0	0	0	0	0
31	Ratnagiri	0	0	0	0	0	0	0	0	0	0	0	0
32	Sindhudurg	0	0	0	0	0	0	0	0	0	0	0	0
33	Thane Rural	0	0	0	0	0	0	0	0	0	0	0	0
34	Palghar	0	0	0	0	0	0	0	0	0	0	0	0
*	**Thane Range**	**0**	**0**	**0**	**0**	**0**	**0**	**0**	**0**	**0**	**0**	**0**	**0**
35	Mumbai Railway	0	0	0	0	0	0	0	0	0	0	0	0
36	Pune Railway	0	0	0	0	0	0	0	0	0	0	0	0
37	Nagpur Railway	0	0	0	0	0	0	0	0	0	0	0	0
*	**Railway Range**	**0**	**0**	**0**	**0**	**0**	**0**	**0**	**0**	**0**	**0**	**0**	**0**
38	Nagpur Commr.	0	0	0	0	0	0	0	0	0	0	0	0
39	Pune Commr.	0	0	0	0	0	0	0	0	0	0	0	0
40	Thane Commr.	0	0	0	0	0	0	0	0	0	0	0	0
41	Mumbai Commr.	0	0	0	0	0	0	0	0	0	0	0	0
42	Nasik Commr.	0	0	0	0	0	0	0	0	0	0	0	0
43	Aurangabad Commr.	0	0	0	0	0	0	0	0	0	0	0	0
44	Solapur Commr.	0	0	0	0	0	0	0	0	0	0	0	0
45	Navi Mumbai	0	0	0	0	0	0	0	0	0	0	0	0
46	Amravati Commr.	0	0	0	0	0	0	0	0	0	0	0	0
*	**Total Commrs.**	**0**	**0**	**0**	**0**	**0**	**0**	**0**	**0**	**0**	**0**	**0**	**0**
*	**Total of M.S**	**0**	**0**	**0**	**0**	**0**	**0**	**0**	**0**	**0**	**0**	**0**	**0**

तक्ता क्र. ८२

सन २०१५ मध्ये पोलीस कोठडीतून पलायन

TABLE 82

Escapes From Police Custody During 2015

Sr. No.	Unit	No. Of Cases Registered (U/S 224, 225 B)	Total No Of Persons Escaped In Above Cases	Persons Escaped From Lockup	Persons Escaped Outside The Lockup	Escapes from lockup rearrested	Other Escapees Rearrested	No. Of Persons Charged Sheeted For Offence of Escape
1	2	3	4	5	6	7	8	9
1	Akola	2	2	0	2	0	2	2
2	Amravati Rural	2	2	0	2	0	0	0
3	Buldhana	0	0	0	0	0	0	0
4	Yavatmal	3	3	0	3	0	3	2
5	Washim	3	3	2	1	2	1	3
*	**Amravati Range**	**10**	**10**	**2**	**8**	**2**	**6**	**7**
6	Aurangabad Rural	0	0	0	0	0	0	0
7	Jalna	3	3	0	3	0	3	2
8	Beed	3	3	0	3	0	1	1
9	Osmanabad	2	2	0	2	2	0	1
*	**Aurangabad Range**	**8**	**8**	**0**	**8**	**2**	**4**	**4**
10	Nanded	3	3	0	3	0	2	2
11	Latur	2	5	4	1	3	1	4
12	Parbhani	0	0	0	0	0	0	0
13	Hingoli	0	0	0	0	0	0	0
*	**Nanded Range**	**5**	**8**	**4**	**4**	**3**	**3**	**6**
14	Kolhapur	1	1	0	1	0	1	1
15	Pune Rural	4	5	3	2	3	2	0
16	Sangli	3	5	4	1	4	1	5
17	Satara	0	0	0	0	0	0	0
18	Solapur Rural	1	1	1	0	1	0	1
*	**Kolhapur Range**	**9**	**12**	**8**	**4**	**8**	**4**	**7**
19	Bhandara	1	1	0	1	0	1	1
20	Chandrapur	4	4	0	4	0	4	0
21	Nagpur Rural	2	2	0	2	0	2	2
22	Wardha	0	0	0	0	0	0	0
*	**Nagpur Range**	**7**	**7**	**0**	**7**	**0**	**7**	**3**
23	Gadchiroli	0	0	0	0	0	0	0
24	Gondia	2	2	0	2	0	2	2
*	**Gadchiroli Range**	**2**	**2**	**0**	**2**	**0**	**2**	**2**
25	Ahmednagar	7	10	4	6	2	0	0
26	Dhule	3	3	1	2	0	2	2
27	Jalgaon	4	4	1	3	0	3	3
28	Nasik Rural	0	0	0	0	0	0	0
29	Nandurbar	2	2	1	1	0	1	1
*	**Nasik Range**	**16**	**19**	**7**	**12**	**2**	**6**	**6**
30	Raigad	3	4	0	4	0	4	2
31	Ratnagiri	2	2	0	2	0	2	2
32	Sindhudurg	1	1	1	0	1	0	0
33	Thane Rural	0	0	0	0	0	0	0
34	Palghar	1	1	0	1	0	0	0
*	**Thane Range**	**7**	**8**	**1**	**7**	**1**	**6**	**4**
35	Mumbai Railway	2	2	0	2	0	2	1
36	Pune Railway	1	1	0	1	0	1	1
37	Nagpur Railway	3	3	0	3	0	3	2
*	**Railway Range**	**6**	**6**	**0**	**6**	**0**	**6**	**4**
38	Nagpur Commr.	6	11	5	6	5	2	7
39	Pune Commr.	2	2	1	1	1	1	1
40	Thane Commr.	2	2	0	2	0	1	0
41	Mumbai Commr.	19	24	0	24	0	19	9
42	Nasik Commr.	1	1	0	1	0	0	0
43	Aurangabad Commr.	3	4	0	4	0	4	3
44	Solapur Commr.	0	0	0	0	0	0	0
45	Navi Mumbai	1	1	0	1	0	1	1
46	Amravati Commr.	2	2	0	2	0	2	1
*	**Total Commrs.**	**36**	**47**	**6**	**41**	**6**	**30**	**22**
*	**Total of M.S**	**106**	**127**	**28**	**99**	**24**	**74**	**65**

तक्ता क्र. ८२ (पूर्ण)

Table No. 82 (CONCLUDED)

Sr. No.	Unit	Disposal By Courts								No. Of Persons Awarded Imprisonment on Charges of escape	
		No. Tried		No. Convicted		No. Acquitted		No. Pending For Trial			
		Cases Involved	No Of Persons	Cases Involved	No Of Persons	Cases Involved	No Of Persons	Cases Involved	No Of Persons	Upto 3 Years	More than 3 Years
1	2	10	11	12	13	14	15	16	17	18	19
1	Akola	0	0	0	0	0	0	2	2	0	0
2	Amravati Rural	0	0	0	0	0	0	0	0	0	0
3	Buldhana	0	0	0	0	0	0	0	0	0	0
4	Yavatmal	0	0	0	0	0	0	2	2	0	0
5	Washim	0	0	0	0	0	0	3	3	0	0
*	**Amravati Range**	**0**	**0**	**0**	**0**	**0**	**0**	**7**	**7**	**0**	**0**
6	Aurangabad Rural	0	0	0	0	0	0	0	0	0	0
7	Jalna	0	0	0	0	0	0	2	2	0	0
8	Beed	0	0	0	0	0	0	1	1	0	0
9	Osmanabad	0	0	0	0	0	0	1	1	0	0
*	**Aurangabad Range**	**0**	**0**	**0**	**0**	**0**	**0**	**4**	**4**	**0**	**0**
10	Nanded	0	0	0	0	0	0	2	2	0	0
11	Latur	0	0	0	0	0	0	2	4	0	0
12	Parbhani	0	0	0	0	0	0	0	0	0	0
13	Hingoli	0	0	0	0	0	0	0	0	0	0
*	**Nanded Range**	**0**	**0**	**0**	**0**	**0**	**0**	**4**	**6**	**0**	**0**
14	Kolhapur	0	0	0	0	0	0	1	1	0	0
15	Pune Rural	0	0	0	0	0	0	0	0	0	0
16	Sangli	0	0	0	0	0	0	3	5	0	0
17	Satara	0	0	0	0	0	0	0	0	0	0
18	Solapur Rural	0	0	0	0	0	0	1	1	0	0
*	**Kolhapur Range**	**0**	**0**	**0**	**0**	**0**	**0**	**5**	7	**0**	**0**
19	Bhandara	0	0	0	0	0	0	1	1	0	0
20	Chandrapur	0	0	0	0	0	0	0	0	0	0
21	Nagpur Rural	1	1	0	0	1	1	1	1	0	0
22	Wardha	0	0	0	0	0	0	0	0	0	0
*	**Nagpur Range**	**1**	**1**	**0**	**0**	**1**	**1**	**2**	**2**	**0**	**0**
23	Gadchiroli	0	0	0	0	0	0	0	0	0	0
24	Gondia	1	1	0	0	1	1	1	1	0	0
*	**Gadchiroli Range**	**1**	**1**	**0**	**0**	**1**	**1**	**1**	**1**	**0**	**0**
25	Ahmednagar	0	0	0	0	0	0	0	0	0	0
26	Dhule	0	0	0	0	0	0	2	2	0	0
27	Jalgaon	0	0	0	0	0	0	3	3	0	0
28	Nasik Rural	0	0	0	0	0	0	0	0	0	0
29	Nandurbar	0	0	0	0	0	0	1	1	0	0
*	**Nasik Range**	**0**	**0**	**0**	**0**	**0**	**0**	**6**	**6**	**0**	**0**
30	Raigad	0	0	0	0	0	0	1	2	0	0
31	Ratnagiri	0	0	0	0	0	0	2	2	0	0
32	Sindhudurg	0	0	0	0	0	0	0	0	0	0
33	Thane Rural	0	0	0	0	0	0	0	0	0	0
34	Palghar	0	0	0	0	0	0	1	0	0	0
*	**Thane Range**	**0**	**0**	**0**	**0**	**0**	**0**	**4**	**4**	**0**	**0**
35	Mumbai Railway	0	0	0	0	0	0	1	1	0	0
36	Pune Railway	0	0	0	0	0	0	1	1	0	0
37	Nagpur Railway	0	0	0	0	0	0	3	2	0	0
*	**Railway Range**	**0**	**0**	**0**	**0**	**0**	**0**	**5**	**4**	**0**	**0**
38	Nagpur Commr.	0	0	0	0	0	0	4	7	0	0
39	Pune Commr.	0	0	0	0	0	0	1	1	0	0
40	Thane Commr.	0	0	0	0	0	0	0	0	0	0
41	Mumbai Commr.	0	0	0	0	0	0	8	9	0	0
42	Nasik Commr.	0	0	0	0	0	0	0	0	0	0
43	Aurangabad Commr.	0	0	0	0	0	0	2	3	0	0
44	Solapur Commr.	0	0	0	0	0	0	0	0	0	0
45	Navi Mumbai	0	0	0	0	0	0	1	1	0	0
46	Amravati Commr.	0	0	0	0	0	0	1	1	0	0
*	**Total Commrs.**	**0**	**0**	**0**	**0**	**0**	**0**	**17**	**22**	**0**	**0**
*	**Total of M.S**	**2**	**2**	**0**	**0**	**2**	**2**	**55**	**63**	**0**	**0**

प्रकरण क्र. - १४
पोलीस गोळीबारात मयत / जखमी

१४.१.१ आपले कर्तव्य बजावीत असताना ज्या घटनासंदर्भात पोलिसांना गोळीबार करावा लागतो, त्याबाबतची माहिती या प्रकरणात नमूद केली आहे. संकलित केलेली माहिती एकूण चार विभागात विभागण्यात आली आहे. १) दंगल, २) स्व:संरक्षण, ३) अटक करणेकरिता, ४) इतर घटना (ज्यात पोलीस व गुन्हेगारांच्या टोळयांशी झालेल्या चकमकींचा समावेश आहे). दंगलखोर जमाव, दहशतवादी / अतिरेकी, दरोडेखोर यांच्या वाढत्या हिंसक कारवाया आणि त्यामध्ये होणारे मृत्यू याबाबत सविस्तर माहिती या विश्लेषणातून मिळू शकते.

१४.१.२ २०१५ मध्ये पोलिसांना एकूण ३३ वेळा गोळीबार करावा लागला. २०१४ मध्ये ३६ वेळा गोळीबार झाला होता. २०१५ सालात या घटनामध्ये ०३ नागरीक मृत्यू पावले तर २०१४ मध्ये ११ नागरीकांचा मृत्यू झाला होता. सन २०१५ मध्ये ०६ नागरिक जखमी झाला आहे, तर सन २०१४ मध्ये ०१ व्यक्ती जखमी झाली होती तसेच सन २०१४ च्या तुलनेत २०१५ सालात पोलीस गोळीबारांच्या घटनांच्या संख्येत ०३ ने घट झाली आहे. पोलीस गोळीबारात मयत / जखमी झालेल्या संदर्भातील घटकनिहाय माहिती तक्ता क्र. ८३ मध्ये नमूद करण्यात आली असून ज्या प्रसंगात पोलिसांना गोळीबार करावा लागला त्या प्रसंगासंदर्भातील माहिती तक्ता क्र. ८४ मध्ये नमूद केली आहे.

पोलीस गोळीबाराचे प्रसंग

१४.२.१ २०१५ मध्ये पोलिसांना ३३ वेळा गोळीबार करावा लागला. इतर कारणामुळे ३१ वेळा, स्व:संरक्षणार्थ ० वेळा, ०१ दंगलीच्यावेळी व अटक टाळण्याच्या परिणामास्तव १ वेळा गोळीबार करावा लागला.

१४.२.२ सन २०१५ मध्ये गडचिरोली घटकात सर्वात जास्त म्हणजे ३० गोळीबारांच्या घटना घडल्या. त्याखालोखाल परभणी, नाशिक ग्रामीण व नवी मुंबई या घटकात प्रत्येकी ०१ अशी क्रमवारी आहे. सन २०१४ मध्ये गडचिरोली घटकात सर्वाधिक ३३ तर बीड, कोल्हापूर, नवी मुंबई या घटकात प्रत्येकी १ अशा पोलीस गोळीबाराच्या घटना घडल्या होत्या. सन २०१५ मध्ये सर्वाधीक ०२ नागरीक व ०२ पोलीस हे गडचिरोली घटकात पोलीस गोळीबारात मयत झाले, त्या खालोखाल नाशिक ग्रामीण घटकात १ अशा व्यक्ती मृत्यू पावली आहेत. सन २०१४ मध्ये सर्वाधिक १० नागरीक गडचिरोली घटकात पोलीस गोळीबारात मयत झाले, त्या खालोखाल बीड घटकात १ अशा व्यक्ती मृत्यू पावली आहे.

Chapter - 14
Police Firing-Persons Killed/Injured

14.1.1 This chapter basically deals with those incidents in which Police had to resort to firing in the discharge of their official duties. The data collected is divided into four major heads 1) Riot, 2) Self Defence, 3) To effect arrest, 4) Other events (which includes police encounters with gangsters). The analysis will provide useful insight into the growing violence by riotous mob, terrorists / extremists, dacoits and number of casualties resulted in police firing.

14.1.2 During 2015, police resorted to firing on 33 occasions as compared to 36 during 2014. In these incidents, 03 civilians had been killed during 2015 as compared to 11 during 2014. During 2015 , 06 civilian has been injured against 01 during 2014. During 2015, incidences of police firing decreased by 03 occasions as compared to 2014. Unit-wise details of persons killed or injured during police firing are presented in Table No. 83. Details of occasions on which police had resorted to firing are presented in Table No.84.

Occasions in which Police resorted to firing

14.2.1 During 2015, Police resorted to firing on 33 occasions. Out of them, 31 were in Other Events, 00 were for self defence, 01 was for riots and 01 event is the effect of avoiding arrest .

14.2.2 During 2015, Gadchiroli unit recorded 30, the highest incidences of police firing, followed by Parbhani, Nasik Rural and Navi Mumbai each one incidence. During 2014, Gadchiroli unit recorded 33, the highest incidences of police firing, followed by Beed, Kolhapur and Navi Mumbai one each. During 2015, as many as 02 civilians and 02 Policemen have been killed in Gadchiroli, followed by Nasik Rural (one civillian). During 2014, as many as 10 civilians have been killed in Gadchiroli which was the hightest in number, followed by Beed 01.

सन २०१५ मध्ये पोलीस गोळीबाराच्या एकुण ३३ घटना घडल्या असुन सर्वात जास्त म्हणजे ०६ नागरीक नाशिक ग्रामीण व ६६ पोलीस गडचिरोली या घटकात जखमी झाले आहेत.

During 2015, out of total 33 Incideance of police firing , highest of 06 Civillian were injured in Nashik Rural & 66 Policemens in Gadchiroli have been injured.

आलेख क्र. १४.१

सन २०१५ मध्ये पोलीस गोळीबाराच्या विविध घटनांचा हिस्सा

CHART No. 14.1

Percentage Share Of Various Events Necessitating Police Firing During 2015

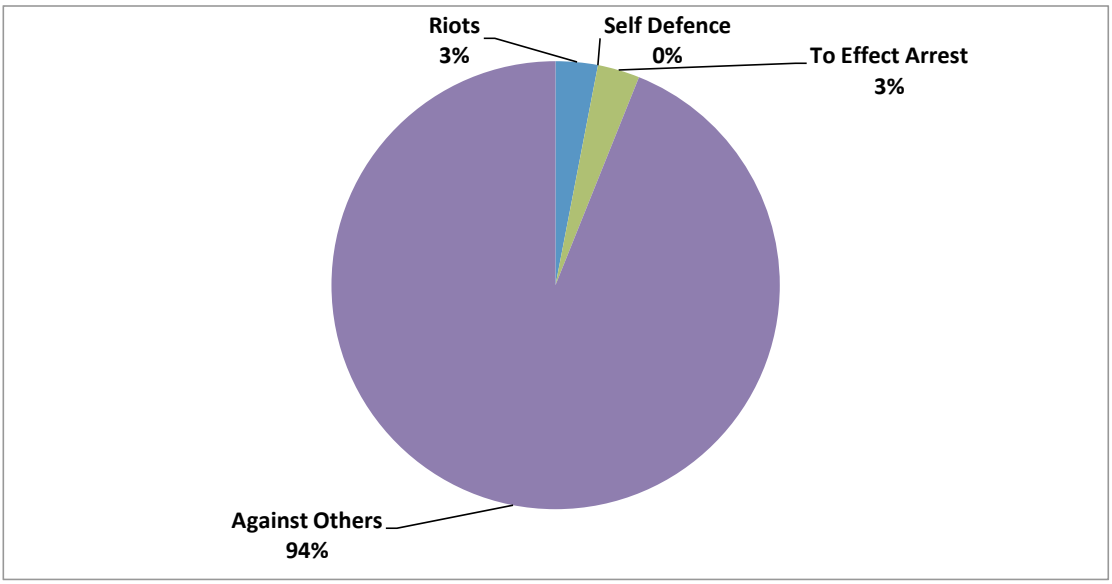

१४.२.३ पोलीस गोळीबारांच्या घटनांच्यावेळी पोलीस कर्मचारीही जखमी / मृत होतात. २०१५ मध्ये अशा घटनांत २ पोलीस कर्मचारी मृत झाले आहेत व ९२ जखमी झाले. २०१४ मध्ये अशा घटनांत ९ पोलीस कर्मचारी मृत झाले आहेत व ४९ जखमी झाले.

14.2.3 During police firing incidents, police personnel are also either injured or killed. During 2015, 2 policemen have been killed & 92 have been injured. During 2014, 9 policemen have been killed & 49 have been injured.

१४.२.४ राज्यातील ०९ शहरांचा आढावा घेता, २०१५ मध्ये पोलीस गोळीबाराची १ घटना नवी मुंबई या घटकात घडली आहे. सदर घटनेमध्ये ०१ पोलीस जखमी आहे.

14.2.4 During 2015, among 9 cities, There is 01 incidence of police firing occured in Navi Mumbai. In this, 01 Policeman is injured.

१४.२.५ २०१५ मध्ये सर्वात जास्त म्हणजे ०२ नागरिक इतर कारणांमुळे झालेल्या गोळीबारामध्ये मृत्यूमुखी पडले, त्याचप्रमाणे एकही नागरीक इतर कारणांच्या कारवाईच्या वेळी पोलिसांनी केलेल्या गोळीबारात जखमी झाला नाही.

14.2.5 During 2015, highest number of civilians, i.e. 02 have been killed in other incidence and no civilian is injured in other incidentces of police firing.

तक्ता क्र. ८३

सन २०१५ मधील पोलीस गोळीबारात मयत व जखमी व्यक्ती

Table -83

Persons Killed Or Injured In Police Firing During 2015

Sr. No.	Unit	Number of occasions firing was resorted to by the Police	Cases Registered	Civilians		Policemen	
				Killed	Injured	Killed	Injured
1	2	3	4	5	6	7	8
1	Akola	0	0	0	0	0	0
2	Amravati Rural	0	0	0	0	0	0
3	Buldhana	0	0	0	0	0	0
4	Yavatmal	0	0	0	0	0	0
5	Washim	0	0	0	0	0	0
*	**Amravati Range**	**0**	**0**	**0**	**0**	**0**	**0**
6	Aurangabad Rural	0	0	0	0	0	0
7	Jalna	0	0	0	0	0	0
8	Beed	0	0	0	0	0	0
9	Osmanabad	0	0	0	0	0	0
*	**Aurangabad Range**	**0**	**0**	**0**	**0**	**0**	**0**
10	Nanded	0	0	0	0	0	0
11	Latur	0	0	0	0	0	0
12	Parbhani	1	1	0	0	0	5
13	Hingoli	0	0	0	0	0	0
*	**Nanded Range**	**1**	**1**	**0**	**0**	**0**	**5**
14	Kolhapur	0	0	0	0	0	0
15	Pune Rural	0	0	0	0	0	0
16	Sangli	0	0	0	0	0	0
17	Satara	0	0	0	0	0	0
18	Solapur Rural	0	0	0	0	0	0
*	**Kolhapur Range**	**0**	**0**	**0**	**0**	**0**	**0**
19	Bhandara	0	0	0	0	0	0
20	Chandrapur	0	0	0	0	0	0
21	Nagpur Rural	0	0	0	0	0	0
22	Wardha	0	0	0	0	0	0
*	**Nagpur Range**	**0**	**0**	**0**	**0**	**0**	**0**
23	Gadchiroli	30	27	2	0	2	66
24	Gondia	0	0	0	0	0	0
*	**Gadchiroli Range**	**30**	**27**	**2**	**0**	**2**	**66**
25	Ahmednagar	0	0	0	0	0	0
26	Dhule	0	0	0	0	0	0
27	Jalgaon	0	0	0	0	0	0
28	Nasik Rural	1	1	1	6	0	20
29	Nandurbar	0	0	0	0	0	0
*	**Nasik Range**	**1**	**1**	**1**	**6**	**0**	**20**
30	Raigad	0	0	0	0	0	0
31	Ratnagiri	0	0	0	0	0	0
32	Sindhudurg	0	0	0	0	0	0
33	Thane Rural	0	0	0	0	0	0
34	Palghar	0	0	0	0	0	0
*	**Thane Range**	**0**	**0**	**0**	**0**	**0**	**0**
35	Mumbai Railway	0	0	0	0	0	0
36	Pune Railway	0	0	0	0	0	0
37	Nagpur Railway	0	0	0	0	0	0
*	**Railway Range**	**0**	**0**	**0**	**0**	**0**	**0**
38	Nagpur Commr.	0	0	0	0	0	0
39	Pune Commr.	0	0	0	0	0	0
40	Thane Commr.	0	0	0	0	0	0
41	Mumbai Commr.	0	0	0	0	0	0
42	Nasik Commr.	0	0	0	0	0	0
43	Aurangabad Commr.	0	0	0	0	0	0
44	Solapur Commr.	0	0	0	0	0	0
45	Navi Mumbai	1	1	0	0	0	1
46	Amravati Commr.	0	0	0	0	0	0
*	**Total Commrs.**	**1**	**1**	**0**	**0**	**0**	**1**
*	**Total of M.S**	**33**	**30**	**3**	**6**	**2**	**92**

तक्ता क्र. ८४

सन २०१५ मध्ये पोलीस गोळीबारात मयत व जखमी व्यक्ती (घटना-निहाय)

Table 84

Persons Killed Or Injured In Police Firing (Event-wise) During 2015

Sr. No.	Events	Number of occasions firing was resorted to by the Police	Cases Registered	Civilians		Policemen	
				Killed	Injured	Killed	Injured
1	Riots	1	1	1	6	0	20
2	Self defence	0	0	0	0	0	0
3	To effect arrest	1	1	0	0	0	1
4	Against others	31	28	2	0	2	71
*	**Total**	**33**	**30**	**3**	**6**	**2**	**92**

प्रकरण - १५

कर्तव्यावर मयत / जखमी झालेल्या पोलीस अधिकारी - कर्मचाऱ्यांबाबत

१५.१.१ स्वत:चे जीवन धोक्यात घालून कर्तव्य बजावणे हे पोलीसांच्या कर्तव्याचे स्वरुप आहे. सर्वसाधारणपणे यात अतिरेकी, दरोडेखोर, जबरी चोरी करणारे अशा गुन्हेगारांविरुध्द करण्यात येणारी कारवाई, तसेच कर्तव्य बजावत असताना घडणारे अपघात यांचा समावेश होतो.

१५.१.२ सन २०१५ सालात कर्तव्य बजावत असताना मयत किंवा जखमी झालेल्या पोलीस अधिकारी / कर्मचा-यांच्या संदर्भातील महाराष्ट्र राज्याची घटकनिहाय माहिती तक्ता क्र. ८५ मध्ये नमूद करण्यात आली आहे. तसेच तक्ता क्र. ८६ मध्ये हुद्दानिहाय मयत किंवा जखमी झालेल्या पोलीस अधिकारी / कर्मचा-यांबाबत माहिती नमूद केली आहे. कर्तव्य बजावीत असताना आपल्या प्राणाचे बलिदान दिलेल्या नागरी तसेच सशस्त्र पोलीस अधिकारी / कर्मचा-यांची माहिती देखील यात नमूद केली आहे.

१५.१.३ सन २०१५ साली कर्तव्य बजावत असताना मृत्यू पावलेल्या ६४ पोलीस अधिकारी / कर्मचाऱ्यांपैकी अपघातांमध्ये ५९ (९२.१८ %), अतिरेकी कारवायांमध्ये ० (० %) मृत्यू पावले, गुन्हेगारांच्या हल्ल्यात २ (३.१२%) मृत्यू पावले. तसेच ३ (४.६८%) अधिकारी/ कर्मचारी हे गुन्हेगारांनी केलेल्या हल्यांमध्ये मृत्यु पावले

१५.१.४ सन २०१५ मध्ये चंद्रपूर जिल्ह्यात सर्वात जास्त म्हणजे (११) पोलीस अधिकारी / कर्मचारी कर्तव्य बजावत असताना मयत झाले आहेत. त्याखालोखाल गडचिरोली (९), ठाणे ग्रामीण (५), व नागपूर शहर (४) पोलीस अधिकारी / कर्मचारी कर्तव्य बजावत असताना मयत झाले आहेत.

Chapter - 15

Police Personnel Killed / Injured On Duty

15.1.1 The very nature of policeman's job entails risk in the course of discharging their duties. These risks include operations against terrorists, extremists, robbers, dacoits and accidents as well while on duty.

15.1.2 Unit-wise information of police personnel killed or injured on duty during various operations during 2015 is given in Table No. 85. The causes of their deaths / injuries (rank-wise) are detailed in Table No. 86. The information of civilians as well as police personnel killed while performing duty is given here.

15.1.3 During 2015, 64 police personnel have been killed while performing their duties. Out of them 59 (92.18 %) have been killed in accidents, 0% killed in Anti LWE operation, 2 (3.12%) in Terrorist Operations and 3 (4.68 %) policemen have been killed in attacks by criminals.

15.1.4 During 2015 , the highest number of police personnel died while performing duties in Chandrapur (11) followed by Gadchiroli (9), Thane Rural (5) and Nagpur Commr. (4).

आलेख क्र. १५.१

सन २०१४ व २०१५ मध्ये कर्तव्यावर मयत झालेले पोलीस कर्मचारी

Chart No. 15.1

Police Personnel Killed On Duty During 2014 And 2015

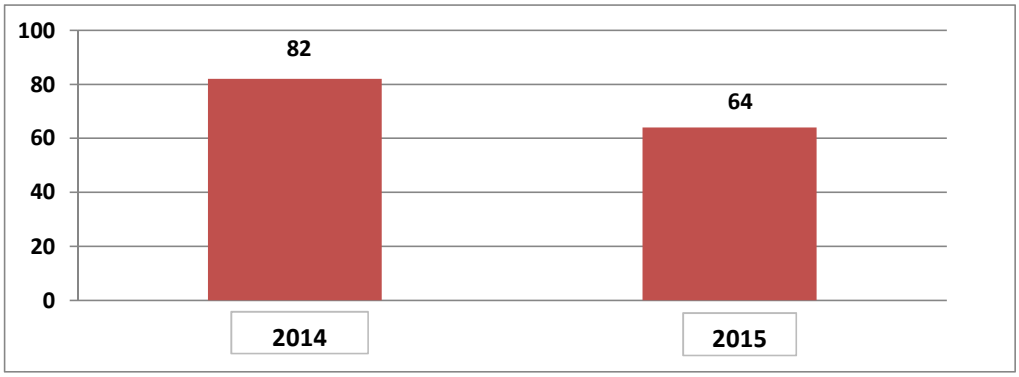

आलेख क्र. १५.२

सन २०१५ मध्ये कर्तव्यावर मयत झालेले पोलीस अधिकारी व कर्मचारी, घटक - निहाय

Chart No. 15.2

Police Personnel Killed On Duty During 2015, Unit- Wise

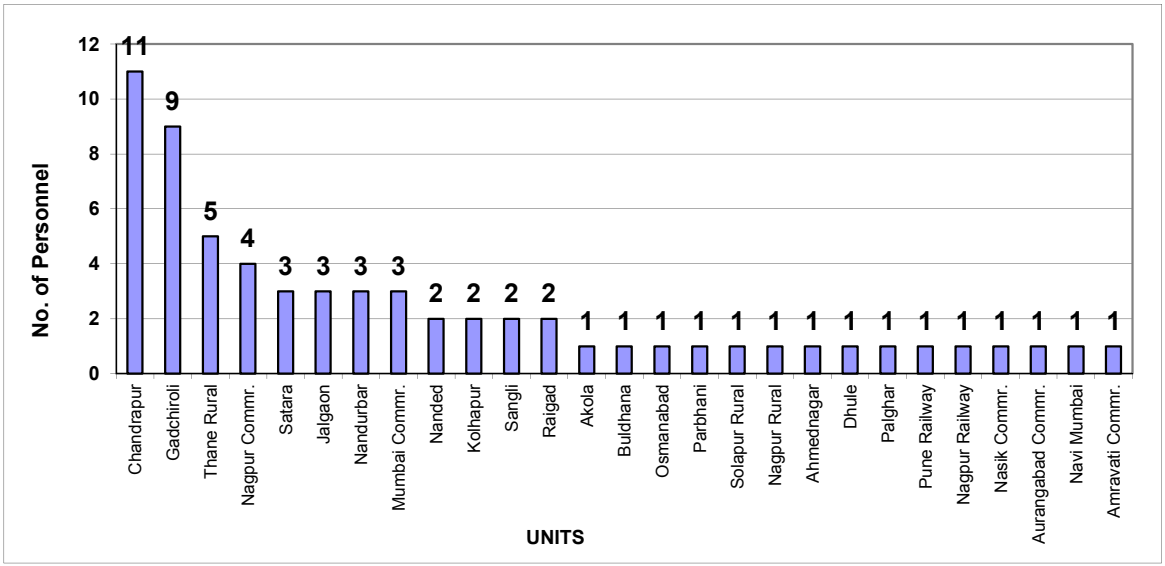

१५.१.५ सन २०१५ सालात कर्तव्य बजावीत असताना एकूण ६४ पोलीस अधिकारी / कर्मचारी मयत झाले आहेत. त्यापैकी ६१ पोलीस कर्मचारी (पोलीस शिपाई ३०, पो. हवालदार २०, सहा.पो.उप. निरीक्षक ११) असून २ पो.उप.निरीक्षक दर्जाचे पोलीस अधिकारी व ०१ इतर राजपत्रीत अधिकारी कर्तव्य बजावित असताना मयत झाले आहेत. सन २०१४ सालात ८२ पोलीस अधिकारी व कर्मचारी कर्तव्य बजावीत असताना मयत झाले होते.

15.1.5 During 2015, 64 police personnel died, while performing their duties. Out of them 61 were of other ranks (Constables 30, Head constables 20, Asstt.Sub Inspectors 11) and 2 Police Officers rank of Police Sub Inspectors and Other Gazetted Officers 1). 82 police personnel died while performing their duties during 2014 .

१५.१.६ राज्यातील एकूण ९ पोलीस आयुक्तालयांच्या हद्दीत कर्तव्य बजावीत असताना एकुण ११ पोलीस अधिकारी / कर्मचारी मयत झाले व एकूण ८८ कर्मचारी जखमी झाले आहेत.

15.1.6 11 Police personnel lost their lives and 88 police personnel sustained injuries while performing duties in 9 Commisionerates in the State.

कर्तव्यावर असताना जखमी झालेल्या पोलीस अधिकारी कर्मचा-यांबाबत

Police Personnel Injured on Duty

१५.२.१ कर्तव्य बजावीत असताना २०१५ साली राज्यात ३७० कर्मचारी जखमी झाले. जे की २०१४ साली २८५ कर्मचारी जखमी झाले होते. वेगवेगळया प्रकारचे कर्तव्य बजावीत असताना जखमी झालेल्या पोलीस अधिकारी / कर्मचा-यांबाबत घटक निहाय माहिती तक्ता क्र. ८५ मध्ये दर्शविली आहे.

15.2.1 During 2015, 370 police personnel of various ranks sustained injuries while performing their duties in Maharashtra State, as against 285 during 2014. Unit-wise details of police personnel injured in the course of various types of duty / operations are given in Table No. 85.

आलेख क्र. १५.३

सन २०१४ व २०१५ मध्ये जखमी पोलीस अधिकारी व कर्मचारी

Chart No 15.3

Police Personnel Injured During 2014 And 2015

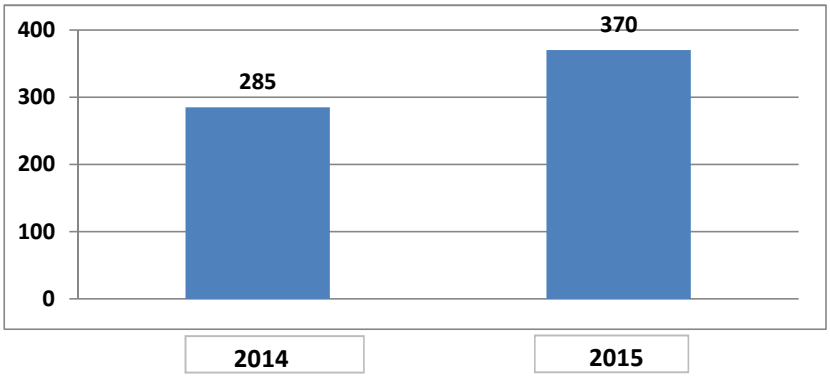

१५.२.२ कर्तव्य बजावीत असताना जखमी झालेल्या सर्वात जास्त पोलीस अधिकारी /कर्मचारी गडचिरोली (८१), नाशिक ग्रामीण (६०) मुंबई शहर (४२), नागपूर ग्रामीण व नंदुरबार प्रत्येकी (१८) व सांगली (१७) असे आहेत.

15.2.2 Unit-wise details of Police personnel injured while performing their duties are as under : Gadchiroli (81), Nashik Rural (60), Mumbai Commi. (42), Nagpur Rural and Nandurbar each (18), and Sangli (17) .

१५.२.३ एकूण जखमी पोलीस अधिकारी / कर्मचा-यांपैकी, पोलीस अधिकारी / कर्मचारी (४४.०५%) बेकायदेशीर जमावाने केलेल्या हल्ल्यात जखमी झाले. याशिवाय , .(२७.५७%) अपघातात, डाव्या विचार सरणीच्या लोकांच्या हल्यात (०.०%), गुन्हेगारांनी केलेल्या हल्ल्यात (९.१८%), दरोडा प्रतिबंधक व इतर धाडीच्या वेळी (१.३५%) अधिकारी / कर्मचारी जखमी झाले.

15.2.3 The maximum number of police personnel i.e. (44.05%) have been injured by riotous mob. The other causes responsible for injuries were, injures by accidents (27.57%), anti LWE operation (0%), Attacks by Criminals (9.18%) Anti-Dacoity and other operations (1.35%).

१५.२.४ हुद्दा-निहाय विचार करता सर्व हुद्दांवरील पोलीस अधिकारी / कर्मचारी जखमी झाले आहेत. एकूण जखमींपैकी ५७.५६% पोलीस शिपाई (२१३), २३.७८% पोलीस हवालदार (८८), ४.३२% सहा. पोलीस उपनिरीक्षक (१६), ९.१८% पोलीस उप.निरीक्षक (३४), ३.२४% पोलीस निरीक्षक (१२) तसेच १.८९% इतर राजपत्रीत दर्जाचे अधिकारी (७) कर्तव्य बजावीत असताना जखमी झालेले आहे.

15.2.4 The Rank-wise profile shows that almost all categories of police personnel have been injured. Out of all the personnel who have been injured on duty, 57.56% were Police Constables (213), 23.78% were Head Constable (88), 4.32% were Asstt. Police Sub. Inspector (16), 9.18% were Police Sub Inspector (34), 3.24% were Police Inspector (12) and 1.89% were Gazetted officers (7).

आलेख क्र. १५.४

सन २०१५ मध्ये कर्तव्य बजावीत असताना जखमी पोलीस अधिकारी व कर्मचारी

Chart No. 15.4

Police Personnel Injured On Duty During 2015

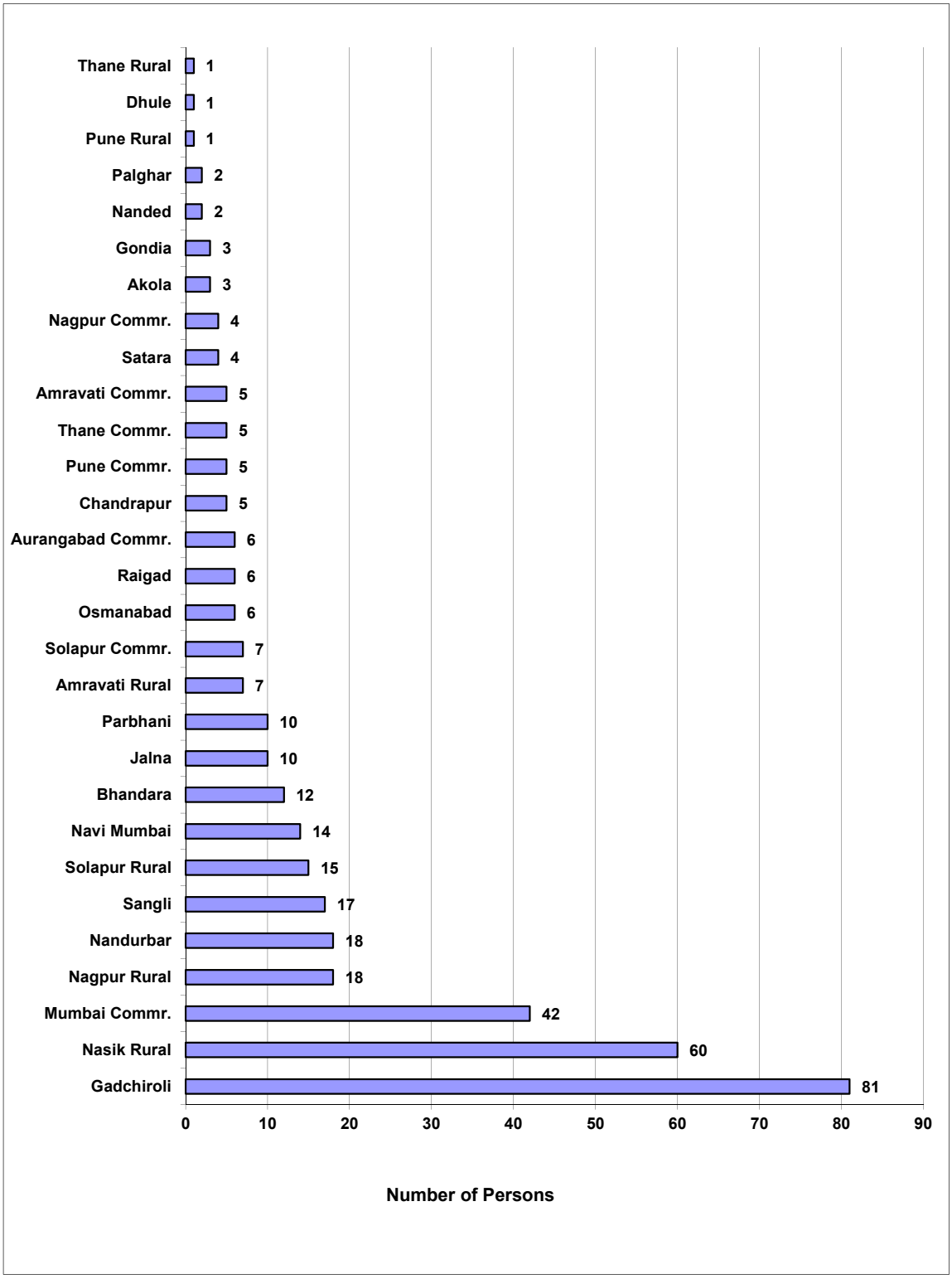

तक्ता क्र. ८५

सन २०१५ मध्ये मयत किंवा जखमी पोलीस अधिकारी व कर्मचारी (घटक निहाय)

Table no. 85

Police Personnel Killed Or Injured On Duty During 2015 (Unit-wise)

Sr. No.	Unit	Killed							
		In Terrorist/ Extremists Operations	Anti LWE Operations	Anti dacoity & other raids	By riotous mobs	By other criminals	On border duties	In accidents	Total Cols. 3+4+5+6+7+8+9 =Col.10
1	2	3	4	5	6	7	8	9	10
1	Akola	0	0	0	0	0	0	1	1
2	Amravati Rural	0	0	0	0	0	0	0	0
3	Buldhana	0	0	0	0	0	0	1	1
4	Yavatmal	0	0	0	0	0	0	0	0
5	Washim	0	0	0	0	0	0	0	0
*	**Amravati Range**	**0**	**0**	**0**	**0**	**0**	**0**	**2**	**2**
6	Aurangabad Rural	0	0	0	0	0	0	0	0
7	Jalna	0	0	0	0	0	0	0	0
8	Beed	0	0	0	0	0	0	0	0
9	Osmanabad	0	0	0	0	0	0	1	1
*	**Aurangabad Range**	**0**	**0**	**0**	**0**	**0**	**0**	**1**	**1**
10	Nanded	0	0	0	0	0	0	2	2
11	Latur	0	0	0	0	0	0	0	0
12	Parbhani	0	0	0	0	0	0	1	1
13	Hingoli	0	0	0	0	0	0	0	0
*	**Nanded Range**	**0**	**0**	**0**	**0**	**0**	**0**	**3**	**3**
14	Kolhapur	0	0	0	0	0	0	2	2
15	Pune Rural	0	0	0	0	0	0	0	0
16	Sangli	0	0	0	0	0	0	2	2
17	Satara	0	0	0	0	0	0	3	3
18	Solapur Rural	0	0	0	0	0	0	1	1
*	**Kolhapur Range**	**0**	**0**	**0**	**0**	**0**	**0**	**8**	**8**
19	Bhandara	0	0	0	0	0	0	0	0
20	Chandrapur	0	0	0	0	0	0	11	11
21	Nagpur Rural	0	0	0	0	0	0	1	1
22	Wardha	0	0	0	0	0	0	0	0
*	**Nagpur Range**	**0**	**0**	**0**	**0**	**0**	**0**	**12**	**12**
23	Gadchiroli	2	0	0	0	0	0	7	9
24	Gondia	0	0	0	0	0	0	0	0
*	**Gadchiroli Range**	**2**	**0**	**0**	**0**	**0**	**0**	**7**	**9**
25	Ahmednagar	0	0	0	0	1	0	0	1
26	Dhule	0	0	0	0	0	0	1	1
27	Jalgaon	0	0	0	0	0	0	3	3
28	Nasik Rural	0	0	0	0	0	0	0	0
29	Nandurbar	0	0	0	0	0	0	3	3
*	**Nasik Range**	**0**	**0**	**0**	**0**	**1**	**0**	**7**	**8**
30	Raigad	0	0	0	0	0	0	2	2
31	Ratnagiri	0	0	0	0	0	0	0	0
32	Sindhudurg	0	0	0	0	0	0	0	0
33	Thane Rural	0	0	0	0	0	0	5	5
34	Palghar	0	0	0	0	0	0	1	1
*	**Thane Range**	**0**	**0**	**0**	**0**	**0**	**0**	**8**	**8**
35	Mumbai Railway	0	0	0	0	0	0	0	0
36	Pune Railway	0	0	0	0	0	0	1	1
37	Nagpur Railway	0	0	0	0	0	0	1	1
*	**Railway Range**	**0**	**0**	**0**	**0**	**0**	**0**	**2**	**2**
38	Nagpur Commr.	0	0	0	0	0	0	4	4
39	Pune Commr.	0	0	0	0	0	0	0	0
40	Thane Commr.	0	0	0	0	0	0	0	0
41	Mumbai Commr.	0	0	0	0	1	0	2	3
42	Nasik Commr.	0	0	0	0	0	0	1	1
43	Aurangabad Commr.	0	0	0	0	0	0	1	1
44	Solapur Commr.	0	0	0	0	0	0	0	0
45	Navi Mumbai	0	0	0	0	1	0	0	1
46	Amravati Commr.	0	0	0	0	0	0	1	1
*	**Total Commrs.**	**0**	**0**	**0**	**0**	**2**	**0**	**9**	**11**
*	**Total of M.S**	**2**	**0**	**0**	**0**	**3**	**0**	**59**	**64**

तक्ता क्र. ८५ (चालू)

Table no. 85 (Continued)

Sr. No.	Unit	Injured							
		In Terrorist/Extremists Operations	Anti LWE Operations	Anti dacoity & other raids	By riotous mobs	By other criminals	On border duties	In accidents	Total Cols. 11+12+13+14+15 +16 +17 =Col.18
1	2	11	12	13	14	15	16	17	18
1	Akola	0	0	0	3	0	0	0	3
2	Amravati Rural	0	0	0	7	0	0	0	7
3	Buldhana	0	0	0	0	0	0	0	0
4	Yavatmal	0	0	0	0	0	0	0	0
5	Washim	0	0	0	0	0	0	0	0
*	**Amravati Range**	**0**	**0**	**0**	**10**	**0**	**0**	**0**	**10**
6	Aurangabad Rural	0	0	0	0	0	0	0	0
7	Jalna	0	0	0	0	7	0	3	10
8	Beed	0	0	0	0	0	0	0	0
9	Osmanabad	0	0	0	6	0	0	0	6
*	**Aurangabad Range**	**0**	**0**	**0**	**6**	**7**	**0**	**3**	**16**
10	Nanded	0	0	0	0	2	0	0	2
11	Latur	0	0	0	0	0	0	0	0
12	Parbhani	0	0	0	10	0	0	0	10
13	Hingoli	0	0	0	0	0	0	0	0
*	**Nanded Range**	**0**	**0**	**0**	**10**	**2**	**0**	**0**	**12**
14	Kolhapur	0	0	0	0	0	0	0	0
15	Pune Rural	0	0	0	1	0	0	0	1
16	Sangli	0	0	1	9	1	0	6	17
17	Satara	0	0	0	0	0	0	4	4
18	Solapur Rural	0	0	1	10	0	0	4	15
*	**Kolhapur Range**	**0**	**0**	**2**	**20**	**1**	**0**	**14**	**37**
19	Bhandara	0	0	0	8	1	0	3	12
20	Chandrapur	0	0	0	0	0	0	5	5
21	Nagpur Rural	0	0	0	15	0	0	3	18
22	Wardha	0	0	0	0	0	0	0	0
*	**Nagpur Range**	**0**	**0**	**0**	**23**	**1**	**0**	**11**	**35**
23	Gadchiroli	66	0	0	3	5	0	7	81
24	Gondia	0	0	0	0	2	0	1	3
*	**Gadchiroli Range**	**66**	**0**	**0**	**3**	**7**	**0**	**8**	**84**
25	Ahmednagar	0	0	0	0	0	0	0	0
26	Dhule	0	0	0	0	0	0	1	1
27	Jalgaon	0	0	0	0	0	0	0	0
28	Nasik Rural	0	0	0	60	0	0	0	60
29	Nandurbar	0	0	0	14	2	0	2	18
*	**Nasik Range**	**0**	**0**	**0**	**74**	**2**	**0**	**3**	**79**
30	Raigad	0	0	0	0	0	0	6	6
31	Ratnagiri	0	0	0	0	0	0	0	0
32	Sindhudurg	0	0	0	0	0	0	0	0
33	Thane Rural	0	0	0	0	0	0	1	1
34	Palghar	0	0	0	0	2	0	0	2
*	**Thane Range**	**0**	**0**	**0**	**0**	**2**	**0**	**7**	**9**
35	Mumbai Railway	0	0	0	0	0	0	0	0
36	Pune Railway	0	0	0	0	0	0	0	0
37	Nagpur Railway	0	0	0	0	0	0	0	0
*	**Railway Range**	**0**	**0**	**0**	**0**	**0**	**0**	**0**	**0**
38	Nagpur Commr.	0	0	0	4	0	0	0	4
39	Pune Commr.	0	0	0	3	2	0	0	5
40	Thane Commr.	0	0	0	0	5	0	0	5
41	Mumbai Commr.	0	0	0	0	1	0	41	42
42	Nasik Commr.	0	0	0	0	0	0	0	0
43	Aurangabad Commr.	0	0	3	0	0	0	3	6
44	Solapur Commr.	0	0	0	5	2	0	0	7
45	Navi Mumbai	0	0	0	5	2	0	7	14
46	Amravati Commr.	0	0	0	0	0	0	5	5
*	**Total Commrs.**	**0**	**0**	**3**	**17**	**12**	**0**	**56**	**88**
*	**Total of M.S**	**66**	**0**	**5**	**163**	**34**	**0**	**102**	**370**

तक्ता क्र. ८६

सन २०१५ मध्ये कर्तव्य बजावीत असताना मयत किंवा जखमी पोलीस (हुददा निहाय)

Table 86

Police Personnel Killed Or Injured On Duty During 2015 (Rank-wise)

Sr. No.	Unit	Killed							
		In Terrorist/Extremists Operations	Anti LWE Operations	Anti dacoity & other raids	By riotous mobs	By other criminals	On border duties	In accidents	Total Cols. 3+4+5+6+7+8+9 =Col.10
1	2	3	4	5	6	7	8	9	10
	RANK								
1	Constables	2	0	0	0	2	0	26	30
2	Head-Constables	0	0	0	0	0	0	20	20
3	Assistant Sub-Inspectors	0	0	0	0	1	0	10	11
4	Sub-Inspectors	0	0	0	0	0	0	2	2
5	Inspectors	0	0	0	0	0	0	1	1
6	Other Gazetted Officers	0	0	0	0	0	0	0	0
7	**Total (All Ranks)**	**2**	**0**	**0**	**0**	**3**	**0**	**59**	**64**

तक्ता क्र. ८६ (चालू)

Table. 86 (Continued)

Sr. No.	Unit	Injured							
		In Terrorist/Extremists Operations	Anti LWE Operations	Anti dacoity & other raids	By riotous mobs	By other criminals	On border duties	In accidents	Total Cols. 11+12+13+14+15 +16 +17 =Col. 18
1	2	11	12	13	14	15	16	17	18
	RANK								
1	Constables	50	0	2	78	22	0	61	213
2	Head-Constables	2	0	1	51	5	0	29	88
3	Assistant Sub-Inspectors	1	0	0	9	2	0	4	16
4	Sub-Inspectors	11	0	2	12	4	0	5	34
5	Inspectors	0	0	0	8	1	0	3	12
6	Other Gazetted Officers	2	0	0	5	0	0	0	7
7	**Total (All Ranks)**	**66**	**0**	**5**	**163**	**34**	**0**	**102**	**370**

प्रकरण - १६

पोलिसांविरूध्द तक्रारी

पोलिसांविरूध्द दाखल झालेल्या तक्रारी

१६.१.१ सन २०१५ मध्ये पोलीस प्रशासनाकडे पोलीस खात्यातील व्यक्तींविरूध्द दखलपात्र आणि अदखलपात्र स्वरूपाच्या तक्रारी / आरोप यांची चर्चा या प्रकरणात केली आहे. पोलिसांविरूध्द दाखल झालेल्या तक्रारी / करण्यात आलेले आरोप खातेनिहाय, दंडाधिका-यामार्फत आणि न्यायालयीन चौकशा, खोट्या तक्रारी, निराधार आरोप, पोलिसांवर दाखल झालेले गुन्हे, तपासाअंती खातेनिहाय कारवाईची शिफारस करण्यात आलेले गुन्हे किंवा न्यायालयात पाठविण्यात आलेले दोषारोप याबाबतची माहिती पुढील तक्त्यामध्ये दर्शविण्यात आलेली आहे.

CHAPTER-16

Complaints Against Police Personnel

Number of Complaints reported against police personnel

16.1.1 The total number of complaints both Non-cognizable and Cognizable made against police personnel which were reported to the police authorities during 2015 is discussed in this chapter. The following table provides, details regarding number of complaints / allegations received against police personnel, number of inquiries (such as Departmental, Magisterial and Judicial) instituted, the number of complaints / cases found false / unsubstantiated, the number of cases which have been registered during the year, and the number of cases either reported for regular departmental action or sent up for trial / charge-sheeted.

तक्ता क्र. १६.१

सन २०१२ ते २०१५ दरम्यान पोलिसांविरूध्द दाखल गुन्हे, तक्रारी व चौकशी यांचा तपशील

TABLE NO. 16.1

Number Of Complaints, Inquiries And Cases Registered Against Police Personnel During 2012 To 2015

Sr. No.	Year	Number of Complaints received during the year	Number Of Inq. Instituted			Number of criminal cases registered during the year	Complaints/cases declared false/unsubstantiated after enquiry…	Number of cases Charge-sheeted during the year	Number of Police Personnel Charge-sheeted	Number of Police Personnel arrested during the year
			Depart-mental	Magestrial	Judai-cial					
1	2012	6925	398	14	65	380	4549	173	185	*
2	2013	7280	951	1	86	442	4172	172	176	*
3	2014	6528	727	8	60	487	2355	167	186	386
4	2015	8004	934	9	22	536	3962	191	217	454

* Data not Available

१६.१.२ सन २०१५ मध्ये महाराष्ट्र राज्यात पोलिसांचे विरूध्द एकूण ८००४ तक्रारी प्राप्त झाल्या. ९६५ तक्रारीमध्ये चौकशी सुरू करण्यास सुचविली आहे. (ज्यामध्ये २०१५ पूर्वीच्या तक्रारींचा समावेश आहे.) २२ तक्रारीमध्ये न्यायालयीन चौकशीचे, ९ तक्रारीमध्ये दंडाधिका -यामार्फत चौकशी आणि ९३४ तक्रारीमध्ये खातेनिहाय चौकशीचे आदेश देण्यात आले. ३९६२ (ज्यामध्ये २०१५ पूर्वीच्या तक्रारी समाविष्ट आहेत) तक्रारी ह्या चौकशी अंती खोट्या असल्याचे किंवा पुराव्यानिशी सिध्द होऊ शकल्या नाहीत असे दिसून येते. घटक निहाय माहितीची विभागणी तक्ता क्रमांक ८७ मध्ये देण्यात आलेली आहे. सन २०१४ शी तुलना करता सन २०१५ मध्ये २२.६१% ने वाढ झाली असून सन २०१३ पेक्षा ९.९४ % ने वाढ झाल्याचे दिसून येते.

16.1.2 During 2015, in all 8004 complaints have been received against police personnel Statewide. Enquiries have been initiated in as many as 965 cases (these include inquiries as an outcome of complaints received prior to 2015 also). Judicial inquiry was ordered in 22 cases, magisterial inquiry was ordered in 9 cases and in 934 cases regular departmental inquiry was initiated. 3962 complaints (which includes complaints received prior to 2015 also) were either not substantiated or found to be false. Detailed Unit-wise break-up of these complaints is presented in the table No. 87. The number of complaints against policemen during 2015 shows a increase by 22.61% as compared to 2014 and a increase by 9.94% as compared to 2013.

ठाणे ग्रामीण या घटकांमध्ये सर्वात जास्त (१२२२) तक्रारी दाखल असून राज्यात नोंद झालेल्या एकूण तक्रारीपैकी १५.२९% इतक्या आहेत. त्या पाठोपाठ नांदेड (७०४), धुळे (७०३), सोलापूर ग्रामीण (४९३) नवी मुंबई (३३०) व औरंगाबाद शहर (३११) या घटकांचा क्रमांक लागतो . राज्यात पोलिसांविरूध्द दाखल झालेल्या तक्रारीपैकी ४७.०१ % तक्रारी वरील सहा घटकांमध्ये दाखल झाल्याचे दिसून येते.

Thane (R) has reported the highest number of complaints, i.e. (1222), 15.29% of the State total, followed by Nanded (704), Dhule (703) Solapur (R) (493), Navi Mumbai (330) Aurangabad (C) (311). These six units accounted for 47.01 % of all complaints reported in the State.

पोलीस कर्मचा-यांवरील दाखल गुन्ह्यात त्यांचेविरूध्द करण्यात आलेली कारवाई.

Criminal involvement of Police Personnel and action taken against them

तक्ता क्र. १६.२

सन २०१२ ते २०१५ दरम्यान पोलिसांची झालेली सुनावणी /दोषसिध्दी/मुक्तता इत्यादी तपशील

TABLE NO. 16.2

Number Of Police Personnel Who Were Tried/Convicted/Acquitted From 2012 To 2014

Sr. No.	YEAR	NUMBER OF POLICE PERSONNEL SENT UP FOR TRIAL	NUMBER OF POLICE PERSONNEL WHOSE CASES WITHDRAWN OR OTHERWISE DISPOSED OFF	NUMBER OF POLICE PERSONNEL IN WHOSE CASES TRIALS HAVE BEEN COMPLETED	NUMBER OF POLICE PERSONNEL	
					CONVICTED	ACQUITED
1	2012	185	18	25	5	20
2	2013	176	3	15	7	8
3	2014	186	0	6	3	3
4	2015	217	1	18	5	13

१६.२.१ सन २०१५ मध्ये २१७ पोलीस कर्मचारी यांचे विरूध्द दोषारोप ठेवून सुनावणीसाठी त्यांना न्यायालयात पाठविण्यात आले. १८ पोलीस कर्मचा-यांविरूध्दची सुनावणी पुर्ण झाली, पैकी १३ पोलिसांची निर्दोष मुक्तता करण्यात आली तर ५ पोलिसांवर दोषारोप सिध्द झाले. सन २०१२ ते २०१५ या दरम्यानची सविस्तर माहिती तक्ता क्र. १६.२ मध्ये देण्यात आली आहे. तसेच सन २०१५ मधील घटक निहाय माहिती, तक्ता क्र. ८७ मध्ये देण्यात आली आहे.

16.2.1 During 2015, there were 217 police personnel against whom charge sheets have been filed before the court. Trials have been completed in case of 18 police personnel, 13 police personnel have been acquitted and 05 police personnel have been convicted. Details for the years 2012 to 2015 are given in Table No.16.2. Unit-wise break-up of information of 2015 is given in Table No 87.

पोलिसांविरूध्दची खातेनिहाय कारवाई

Departmental action against police personnel.

तक्ता क्र. १६.३

सन २०१२ ते २०१५ दरम्यान पोलिसांवर झालेली खातेनिहाय कारवाई आणि शिक्षा

TABLE NO. 16.3

Departmental Action And Punishment Awarded To Police Personnel During 2012 To 2015

Sr. No.	Year	Number Of Police Personnel			Number Of Police Personnel			
		Against Whom Disciplinary Action Initiated	Whose Cases Were Withdrawn or otherwise disposed off	Number of Police personnel in whose cases enquiries were conducted during the year	Dismissal/Removal from Service	Major Punishment	Minor Punishment awarded	Number of departmental enquiries in which charges were not proved and filed
1	2012	152	18		11	35	44	
2	2013	1019	19		32	40	729	
3	2014	777	77	359	19	37	376	
4	2015	1673	104	930	32	69	1485	45

१६.३.१ सन २०१५ सालात १६७३ पोलीस कर्मचा-यांविरूध्द खाते निहाय चौकशी सुरू करण्यात आली. १०४ पोलिसांविरूध्दची चौकशी बंद / रद्द करण्यात आली वा अन्य मार्गाने निकाली काढण्यात आली. १५८६ पोलिसांचे विरूध्द खाते निहाय चौकशीचे काम पुर्ण करण्यात आले. सन २०१५ मध्ये राज्य पातळीवर ३२ पोलीस कर्मचा-यांना बडतर्फ अथवा सेवेतून कमी करण्यात आले. यापैकी सर्वाधिक पुणे ग्रामीण (५), अहमदनगर (५) व सातारा (४) या घटकातील पोलीस कर्मचारी बडतर्फ किंवा सेवेतून कमी करण्यात आल्याचे दिसून येते. सदरची माहिती तक्ता क्र. १६.३ व ८७ मध्ये दर्शविण्यात आली आहे.

16.3.1 During 2015, disciplinary action has been initiated against 1673 police personnel. Process of departmental action has been either withdrawn or otherwise disposed off against 104, departmental enquiry was completed against 1586 police personnel. 32 police personnel have been either dismissed or removed from service. Large number of dismissals / removals have been reported from Pune (R) (5) followed by Ahmendnagar (5) Satara (4). Information is given in Table No.16.3 and 87.

सन २०१५ मध्ये ६९ पोलीस अधिकारी व कर्मचारी यांना जबर स्वरूपाच्या तर १४८५ पोलीस अधिकारी व कर्मचारी यांना किरकोळ प्रकारच्या शिक्षा देण्यात आल्या.

During 2015, 69 Police personnels have been awarded major punishment and minor punishments to 1485 police personnels.

पोलिसांकडून मानवी हक्कांचे उल्लंघन

१६.४.१ पोलिसांनी मानवी हक्कांचे उल्लंघन केल्याबाबत पोलिसांविरूध्द २०१५ मध्ये एकही गुन्हा दाखल नाही. घटक निहाय माहिती तक्ता क्र. ८८ मध्ये दिली आहे.

Human Rights Violation by Police :

16.4.1 No offence involving the human rights violation by police personnel have been registered during 2015. The unit-wise details of such incidents are given in Table No. 88.

तक्ता क्र. १६.४

सन २०१५ मध्ये पोलिसांकडून मानवी हक्कांचे झालेले उल्लंघन

Table No - 16.4

Incidence of Human Rights Violation by Police and Their Disposal During 2015

Sr. No.	Incidence of	No. of cases registered		No. of Cases found to be False		No. of Police Personnel			
						Charge-sheeted		Convicted	
		State Police	Central Paramilitary Forces	State Police	Central Paramilitary Forces	State Police	Central Paramilitary Forces	State Police	Central Paramilitary Forces
1	2	3	4	5	6	7	8	9	10
1	Disappearance of Persons	0	0	0	0	0	0	0	0
2	Illegal detention or arrests	0	0	0	0	0	0	0	0
2.1	Illegal detention or arrests - SCs	0	0	0	0	0	0	0	0
2.2	Illegal detention or arrests - STs	0	0	0	0	0	0	0	0
2.3	Illegal detention or arrests - Others	0	0	0	0	0	0	0	0
3	Fake encounter killings	0	0	0	0	0	0	0	0
4	Human Rights violation against	0	0	0	0	0	0	0	0
5	Extortion	0	0	0	0	0	0	0	0
6	Hurt/Injury	0	0	0	0	0	0	0	0
7	Failure in taking action	0	0	0	0	0	0	0	0
8	Assault on women with intent to	0	0	0	0	0	0	0	0
9	Insult to the Modesty of Women	0	0	0	0	0	0	0	0
10	Atrocities on SC	0	0	0	0	0	0	0	0
11	Atrocities on ST	0	0	0	0	0	0	0	0
12	Torture	0	0	0	0	0	0	0	0
12.1	Torture - SC	0	0	0	0	0	0	0	0
12.2	Torture - ST	0	0	0	0	0	0	0	0
12.3	SC/ST (POA) Act, 1989 - Section 4	0	0	0	0	0	0	0	0
13	Failure in Registering FIR	0	0	0	0	0	0	0	0
14	SC/ST (POA) Act, 1989 - Section 4	0	0	0	0	0	0	0	0
15	Protection of Children from Sexual	0	0	0	0	0	0	0	0
16	Others Human Rights violations	0	0	0	0	0	0	0	0
17	Total Human Rights Violation by	0	0	0	0	0	0	0	0

तक्ता क्र. ८७

पोलिसांविरुध्द दाखल झालेल्या तक्रारी - २०१५

TABLE NO. 87

Complaints/Cases Registered Against Police Personnel During 2015

Sr. No.	Unit	Number of Complaints received during the year	Number of Inquiry Instituted			Number of criminal cases registered during the year	Complaints/cases declared false/unsubstantiated after enquiry/investigation during the year
			Departmental	Magisterial	Judicial		
1	2	3	4	5	6	7	8
1	Akola	145	17	0	0	13	112
2	Amravati Rural	64	0	1	0	6	58
3	Buldhana	272	1	0	0	10	128
4	Yavatmal	155	14	0	0	0	0
5	Washim	134	25	0	0	7	73
*	**Amaravati Range**	**770**	**57**	**1**	**0**	**36**	**371**
6	Aurangabad Rural	183	2	0	0	5	181
7	Jalna	22	3	0	0	2	14
8	Beed	200	1	0	0	13	187
9	Osmanabad	50	0	0	0	13	6
*	**A'bad Range**	**455**	**6**	**0**	**0**	**33**	**388**
10	Nanded	704	40	0	0	21	1
11	Latur	155	12	0	0	12	0
12	Parbhani	40	26	0	0	9	5
13	Hingoli	28	7	0	0	3	0
*	**Nanded Range**	**927**	**85**	**0**	**0**	**45**	**6**
14	Kolhapur	154	19	0	0	11	75
15	Pune Rural	90	10	0	0	10	43
16	Sangli	125	0	0	0	15	55
17	Satara	73	0	0	0	17	23
18	Solapur Rural	493	7	0	0	14	228
*	**Kolhapur Range**	**935**	**36**	**0**	**0**	**67**	**424**
19	Bhandara	64	4	0	0	9	30
20	Chandrapur	37	27	0	0	10	0
21	Nagpur Rural	28	0	0	0	6	22
22	Wardha	10	3	7	0	10	0
*	**Nagpur Range**	**139**	**34**	**7**	**0**	**35**	**52**
23	Gadchiroli	39	0	0	0	23	16
24	Gondia	78	6	0	0	9	50
*	**Gadchiroli Range**	**117**	**6**	**0**	**0**	**32**	**66**
25	Ahmednagar	52	52	0	0	17	22
26	Dhule	703	14	0	0	19	307
27	Jalgaon	26	1	0	0	11	0
28	Nasik Rural	102	7	0	0	12	53
29	Nandurbar	31	0	0	0	4	27
*	**Nasik Range**	**914**	**74**	**0**	**0**	**63**	**409**
30	Raigad	227	168	0	0	8	2
31	Ratnagiri	54	54	0	0	2	41
32	Sindhudurg	78	78	0	0	5	67
33	Thane Rural	1222	37	0	0	17	1021
34	Palghar	23	23	0	0	16	0
*	**Thane Range**	**1604**	**360**	**0**	**0**	**48**	**1131**
35	Mumbai Railway	37	32	0	0	5	13
36	Pune Railway	60	29	0	0	1	30
37	Nagpur Railway	5	5	0	0	0	0
*	**Railways Range**	**102**	**66**	**0**	**0**	**6**	**43**
38	Nagpur Commr.	246	16	0	0	30	200
39	Pune Commr.	198	61	0	0	6	137
40	Thane Commr.	236	0	0	0	8	220
41	Mumbai Commr.	290	47	1	21	47	170
42	Nasik Commr.	273	10	0	0	9	26
43	Aurangabad Commr.	311	1	0	1	38	47
44	Solapur Commr.	138	18	0	0	15	0
45	Navi Mumbai	330	57	0	0	4	269
46	Amravati Commr.	19	0	0	0	14	3
*	**Total of Commrs.**	**2041**	**210**	**1**	**22**	**171**	**1072**
**	**Total**	**8004**	**934**	**9**	**22**	**536**	**3962**

तक्ता क्र. ८७ (चालू)

TABLE NO. 87 (Continued)

Sr. No.	Unit	Number of cases Charge-sheeted during the year	Number of Police Personnel Charge-sheeted	Number of Police Personnel arrested during the year	Number of Police Personnel sent up for trial during the year	Number of Police Personnel whose cases were withdrawn or otherwise disposed of	No. of Police personnel in whose cases the trials were completed during the year
1	2	9	10	11	12	13	14
1	Akola	2	2	15	2	0	0
2	Amravati Rural	0	0	0	0	0	0
3	Buldhana	4	4	10	4	0	1
4	Yavatmal	0	0	0	0	0	0
5	Washim	2	3	2	3	0	0
*	**Amaravati Range**	**8**	**9**	**27**	**9**	**0**	**1**
6	Aurangabad Rural	2	3	5	3	0	0
7	Jalna	4	1	1	1	0	1
8	Beed	2	2	13	2	0	0
9	Osmanabad	2	2	3	2	0	2
*	**A'bad Range**	**10**	**8**	**22**	**8**	**0**	**3**
10	Nanded	10	10	21	10	0	0
11	Latur	11	11	11	11	0	0
12	Parbhani	3	3	11	3	0	0
13	Hingoli	0	0	3	0	0	0
*	**Nanded Range**	**24**	**24**	**46**	**24**	**0**	**0**
14	Kolhapur	7	7	11	7	0	0
15	Pune Rural	10	10	19	10	0	0
16	Sangli	2	2	17	2	0	0
17	Satara	7	8	13	8	0	3
18	Solapur Rural	0	0	18	0	0	0
*	**Kolhapur Range**	**26**	**27**	**78**	**27**	**0**	**3**
19	Bhandara	3	3	7	3	0	0
20	Chandrapur	4	4	10	4	0	0
21	Nagpur Rural	0	0	6	0	0	0
22	Wardha	7	3	8	3	0	0
*	**Nagpur Range**	**14**	**10**	**31**	**10**	**0**	**0**
23	Gadchiroli	5	5	23	5	0	0
24	Gondia	3	3	9	3	0	0
*	**Gadchiroli Range**	**8**	**8**	**32**	**8**	**0**	**0**
25	Ahmednagar	8	8	21	8	0	0
26	Dhule	0	0	7	0	0	0
27	Jalgaon	11	11	11	11	0	0
28	Nasik Rural	4	4	8	4	0	0
29	Nandurbar	3	3	5	3	0	3
*	**Nasik Range**	**26**	**26**	**52**	**26**	**0**	**3**
30	Raigad	4	4	7	4	0	0
31	Ratnagiri	1	1	1	1	0	0
32	Sindhudurg	2	2	4	2	0	0
33	Thane Rural	0	0	15	0	0	0
34	Palghar	8	23	13	23	0	0
*	**Thane Range**	**15**	**30**	**40**	**30**	**0**	**0**
35	Mumbai Railway	3	4	7	4	0	2
36	Pune Railway	1	1	1	1	0	0
37	Nagpur Railway	0	0	0	0	0	0
*	**Railways Range**	**4**	**5**	**8**	**5**	**0**	**2**
38	Nagpur Commr.	8	16	31	16	0	0
39	Pune Commr.	2	2	4	2	0	1
40	Thane Commr.	2	6	12	6	0	0
41	Mumbai Commr.	12	16	26	16	1	3
42	Nasik Commr.	1	1	12	1	0	0
43	Aurangabad Commr.	15	16	20	16	0	0
44	Solapur Commr.	7	4	4	4	0	0
45	Navi Mumbai	4	4	4	4	0	2
46	Amravati Commr.	5	5	5	5	0	0
*	**Total of Commrs.**	**56**	**70**	**118**	**70**	**1**	**6**
**	**Total**	**191**	**217**	**454**	**217**	**1**	**18**

तक्ता क्र. ८७ (चालू)

TABLE NO. 87 (Continued)

Sr. No.	Unit	Number of Police Personnel		Number of Police Personnel against whom disciplinary action initiated during the year	Number of Police Personnel awarded minor punishments summarily	Number of Police Personnel whose cases were withdrawn or otherwise disposed of	Number of Police personnel in whose cases enquiries were conducted during the year
		Convicted	Acquitted				
1	2	15	16	17	18	19	20
1	Akola	0	0	15	0	0	0
2	Amravati Rural	0	0	6	0	0	6
3	Buldhana	0	1	1	0	0	1
4	Yavatmal	0	0	141	132	6	138
5	Washim	0	0	6	0	0	0
*	**Amaravati Range**	**0**	**1**	**169**	**132**	**6**	**145**
6	Aurangabad Rural	0	0	40	26	0	18
7	Jalna	0	1	0	0	0	0
8	Beed	0	0	12	3	0	0
9	Osmanabad	1	1	38	0	6	5
*	**A'bad Range**	**1**	**2**	**90**	**29**	**6**	**23**
10	Nanded	0	0	40	0	0	40
11	Latur	0	0	12	0	0	0
12	Parbhani	0	0	26	2	0	9
13	Hingoli	0	0	31	1	1	30
*	**Nanded Range**	**0**	**0**	**109**	**3**	**1**	**79**
14	Kolhapur	0	0	62	25	0	21
15	Pune Rural	0	0	19	48	8	12
16	Sangli	0	0	53	0	0	0
17	Satara	3	0	15	0	1	0
18	Solapur Rural	0	0	84	70	0	7
*	**Kolhapur Range**	**3**	**0**	**233**	**143**	**9**	**40**
19	Bhandara	0	0	4	3	0	4
20	Chandrapur	0	0	27	0	0	0
21	Nagpur Rural	0	0	6	0	0	6
22	Wardha	0	0	27	111	0	27
*	**Nagpur Range**	**0**	**0**	**64**	**114**	**0**	**37**
23	Gadchiroli	0	0	0	0	0	0
24	Gondia	0	0	9	0	0	9
*	**Gadchiroli Range**	**0**	**0**	**9**	**0**	**0**	**9**
25	Ahmednagar	0	0	16	0	0	16
26	Dhule	0	0	14	0	0	0
27	Jalgaon	0	0	1	0	0	0
28	Nasik Rural	0	0	7	0	0	0
29	Nandurbar	0	3	0	0	0	0
*	**Nasik Range**	**0**	**3**	**38**	**0**	**0**	**16**
30	Raigad	0	0	168	0	15	227
31	Ratnagiri	0	0	0	0	0	0
32	Sindhudurg	0	0	72	71	0	0
33	Thane Rural	0	0	37	0	0	2
34	Palghar	0	0	0	0	0	0
*	**Thane Range**	**0**	**0**	**277**	**71**	**15**	**229**
35	Mumbai Railway	0	2	7	0	0	7
36	Pune Railway	0	0	29	0	15	29
37	Nagpur Railway	0	0	5	0	0	0
*	**Railways Range**	**0**	**2**	**41**	**0**	**15**	**36**
38	Nagpur Commr.	0	0	25	16	0	18
39	Pune Commr.	0	1	61	0	0	0
40	Thane Commr.	0	0	0	0	0	0
41	Mumbai Commr.	1	2	183	115	27	156
42	Nasik Commr.	0	0	173	135	9	10
43	Aurangabad Commr.	0	0	48	2	0	47
44	Solapur Commr.	0	0	62	47	0	18
45	Navi Mumbai	0	2	91	15	16	57
46	Amravati Commr.	0	0	0	0	0	10
*	**Total of Commrs.**	**1**	**5**	**643**	**330**	**52**	**316**
**	**Total**	**5**	**13**	**1673**	**822**	**104**	**930**

तक्ता क्र. ८७ (पुर्ण)

TABLE NO. 87 (Completed)

Sr. No.	Unit	Number of Police Personnel			Number of departmental enquiries in which charges were not proved and filed	Number of departmental enquiries pending at the end of the year
		Dismissal/Removal from Service	Major punishment	Minor punishment		
1	2	21	22	23	24	25
1	Akola	0	7	8	0	5
2	Amravati Rural	0	0	0	6	6
3	Buldhana	0	0	0	0	1
4	Yavatmal	3	0	135	0	3
5	Washim	1	0	0	0	5
*	**Amaravati Range**	**4**	**7**	**143**	**6**	**20**
6	Aurangabad Rural	0	0	26	0	8
7	Jalna	0	0	10	2	0
8	Beed	0	0	0	0	1
9	Osmanabad	0	1	0	4	33
*	**A'bad Range**	**0**	**1**	**36**	**6**	**42**
10	Nanded	0	0	0	0	40
11	Latur	0	0	0	0	12
12	Parbhani	0	1	2	1	22
13	Hingoli	0	0	1	21	7
*	**Nanded Range**	**0**	**1**	**3**	**22**	**81**
14	Kolhapur	3	0	34	1	19
15	Pune Rural	5	5	13	2	10
16	Sangli	1	12	179	0	40
17	Satara	4	0	0	0	15
18	Solapur Rural	0	14	70	0	7
*	**Kolhapur Range**	**13**	**31**	**296**	**3**	**91**
19	Bhandara	1	0	3	0	0
20	Chandrapur	0	0	0	0	27
21	Nagpur Rural	0	0	0	0	6
22	Wardha	0	0	3	0	4
*	**Nagpur Range**	**1**	**0**	**6**	**0**	**37**
23	Gadchiroli	0	0	0	0	0
24	Gondia	0	0	0	0	7
*	**Gadchiroli Range**	**0**	**0**	**0**	**0**	**7**
25	Ahmednagar	5	0	4	3	4
26	Dhule	0	0	0	0	14
27	Jalgaon	0	0	0	0	1
28	Nasik Rural	0	0	0	0	7
29	Nandurbar	0	0	0	0	0
*	**Nasik Range**	**5**	**0**	**4**	**3**	**26**
30	Raigad	0	0	227	2	11
31	Ratnagiri	0	0	0	0	0
32	Sindhudurg	0	1	70	0	1
33	Thane Rural	0	0	2	0	35
34	Palghar	0	0	0	0	8
*	**Thane Range**	**0**	**1**	**299**	**2**	**55**
35	Mumbai Railway	0	0	0	0	7
36	Pune Railway	0	8	7	0	14
37	Nagpur Railway	0	0	0	0	5
*	**Railways Range**	**0**	**8**	**7**	**0**	**26**
38	Nagpur Commr.	0	2	16	0	7
39	Pune Commr.	2	0	0	0	59
40	Thane Commr.	0	0	0	0	8
41	Mumbai Commr.	2	0	114	3	40
42	Nasik Commr.	0	0	1	0	9
43	Aurangabad Commr.	1	6	472	0	1
44	Solapur Commr.	0	8	47	0	8
45	Navi Mumbai	4	4	36	0	10
46	Amravati Commr.	0	0	5	0	5
*	**Total of Commrs.**	**9**	**20**	**691**	**3**	**147**
**	**Total**	**32**	**69**	**1485**	**45**	**532**

तक्ता क्र. ८८

सन २०१५ मध्ये पोलिसांकडून मानवी हक्कांचे झालेले उल्लंघन

TABLE NO. 88

Human Rights Violation By Police During - 2015

S.No.	District	No. of cases registered		No. of Cases found to be False		No. of Police Personnel			
						Charge-sheeted		Convicted	
		State Police	Central Paramilitary Forces	State Police	Central Paramilitary Forces	State Police	Central Paramilitary Forces	State Police	Central Paramilitary Forces
1	2	3	4	5	6	7	8	9	10
1	Akola	0	0	0	0	0	0	0	0
2	Amravati Rural	0	0	0	0	0	0	0	0
3	Buldhana	0	0	0	0	0	0	0	0
4	Yavatmal	0	0	0	0	0	0	0	0
5	Washim	0	0	0	0	0	0	0	0
*	**Amaravati Range**	**0**	**0**	**0**	**0**	**0**	**0**	**0**	**0**
6	Aurangabad Rural	0	0	0	0	0	0	0	0
7	Jalna	0	0	0	0	0	0	0	0
8	Beed	0	0	0	0	0	0	0	0
9	Osmanabad	0	0	0	0	0	0	0	0
*	**A'bad Range**	**0**	**0**	**0**	**0**	**0**	**0**	**0**	**0**
10	Nanded	0	0	0	0	0	0	0	0
11	Latur	0	0	0	0	0	0	0	0
12	Parbhani	0	0	0	0	0	0	0	0
13	Hingoli	0	0	0	0	0	0	0	0
*	**Nanded Range**	**0**	**0**	**0**	**0**	**0**	**0**	**0**	**0**
14	Kolhapur	0	0	0	0	0	0	0	0
15	Pune Rural	0	0	0	0	0	0	0	0
16	Sangli	0	0	0	0	0	0	0	0
17	Satara	0	0	0	0	0	0	0	0
18	Solapur Rural	0	0	0	0	0	0	0	0
*	**Kolhapur Range**	**0**	**0**	**0**	**0**	**0**	**0**	**0**	**0**
19	Bhandara	0	0	0	0	0	0	0	0
20	Chandrapur	0	0	0	0	0	0	0	0
21	Nagpur Rural	0	0	0	0	0	0	0	0
22	Wardha	0	0	0	0	0	0	0	0
*	**Nagpur Range**	**0**	**0**	**0**	**0**	**0**	**0**	**0**	**0**
23	Gadchiroli	0	0	0	0	0	0	0	0
24	Gondia	0	0	0	0	0	0	0	0
*	**Gadchiroli Range**	**0**	**0**	**0**	**0**	**0**	**0**	**0**	**0**
25	Ahmednagar	0	0	0	0	0	0	0	0
26	Dhule	0	0	0	0	0	0	0	0
27	Jalgaon	0	0	0	0	0	0	0	0
28	Nasik Rural	0	0	0	0	0	0	0	0
29	Nandurbar	0	0	0	0	0	0	0	0
*	**Nasik Range**	**0**	**0**	**0**	**0**	**0**	**0**	**0**	**0**
30	Raigad	0	0	0	0	0	0	0	0
31	Ratnagiri	0	0	0	0	0	0	0	0
32	Sindhudurg	0	0	0	0	0	0	0	0
33	Thane Rural	0	0	0	0	0	0	0	0
34	Palghar	0	0	0	0	0	0	0	0
*	**Thane Range**	**0**	**0**	**0**	**0**	**0**	**0**	**0**	**0**
35	Mumbai Railway	0	0	0	0	0	0	0	0
36	Pune Railway	0	0	0	0	0	0	0	0
37	Nagpur Railway	0	0	0	0	0	0	0	0
*	**Railways Range**	**0**	**0**	**0**	**0**	**0**	**0**	**0**	**0**
38	Nagpur Commr.	0	0	0	0	0	0	0	0
39	Pune Commr.	0	0	0	0	0	0	0	0
40	Thane Commr.	0	0	0	0	0	0	0	0
41	Mumbai Commr.	0	0	0	0	0	0	0	0
42	Nasik Commr.	0	0	0	0	0	0	0	0
43	Aurangabad Commr.	0	0	0	0	0	0	0	0
44	Solapur Commr.	0	0	0	0	0	0	0	0
45	Navi Mumbai	0	0	0	0	0	0	0	0
46	Amravati Commr.	0	0	0	0	0	0	0	0
*	**Total of Commrs.**	**0**	**0**	**0**	**0**	**0**	**0**	**0**	**0**
**	**Total**	**0**	**0**	**0**	**0**	**0**	**0**	**0**	**0**

प्रकरण - १७

संगणक गुन्हे / सायबर गुन्हे.

"संगणक प्रणाली मध्ये बेकायदेशीरपणे प्रवेश करुन संगणक प्रणाली निकामी करणे, तिचे नुकसान करणे किंवा त्यामध्ये बदल करणे, महत्वाची माहिती / बौध्दिक मालमत्ता इ. चोरणे किंवा संगणक जंतू व जिवाणू इ. सोडून संगणकावर साठवलेली माहिती नष्ट करणे, नुकसान करणे व त्यात बदल करणे व संगणकावरुन अश्लिल मजकूर प्रसारित वा प्रस्तुत करणे" अशी संगणक गुन्ह्यांची साधारणपणे व्याख्या केली जाईल.

संगणकाशी संबंधीत गुन्हयांची मुख्यतः दोन प्रमुख विभागांत वर्गवारी केली जाते -

१) जेथे संगणक हा गुन्हयाचे लक्ष्य असतो,

२) जेथे संगणकाचा उपयोग करुन गुन्हा केला जातो.

ज्यावेळी एखादा गुन्हेगार संगणक प्रणाली मध्ये बेकायदेशीरपणे प्रवेश करुन संगणक प्रणाली निकामी करतो, तिला नुकसान पोहचवितो किंवा त्यात बदल करतो त्यावेळी तो संगणक त्या गुन्हयाचे लक्ष्य होतो. उदाहरणार्थ-आर्थिक लेखामध्ये खाडाखोड व बदल करणे, खात्यावरुन पैसे काढणे इ. गुन्हे. बँकेच्या संगणक प्रणाली मध्ये घुसखोरी करुन महत्वाची माहिती / बौध्दिक मालमत्ता इ. चोरणे किंवा माहितीचे नुकसान करणे, संगणक जंतू व जिवाणू इ. सोडून संगणकावर साठवलेली माहिती नष्ट करणे, तिचे नुकसान करणे व त्यात बदल करणे. उदा.

अ. संगणक प्रणाली मध्ये बेकायदेशीरपणे प्रवेश करणे

ब. महत्वाची माहिती / बौध्दिक मालमत्ता इ. चोरणे

क. ई-मेल द्वारा नुकसान पोहोचविणे

ड. महत्वाच्या माहितीत खाडाखोड व बदल करणे

इ. सलामी हल्ला

फ. सेवा सुविधा नष्ट करण्याच्या हेतूने हल्ला

ग. व्हायरस हल्ला

ह. तारतम्य नष्ट करण्याच्या हेतूने हल्ला

य. ट्रॉजन हल्ला

ज. इंटरनेट वेळेची चोरी

क. संकेतस्थळांवर ताबा घेणे

ल. संगणक प्रणालीची चोरी

म. संगणक यंत्रणेचे स्वबळाने नुकसान, इ.

CHAPTER - 17

Computer Crime / Cyber Crime

A simple definition of cyber crime would be 'unauthorized access into computer system causing its failure, damage or alteration or theft of important information / intellectual property stored in the computer by launching viruses, worms etc; broadcasting or publishing obscene information'.

Computer-related Crime may be categorised into two major categories:

i) Where computer is the target of the crime,

ii) Where computer is an instrument of the crime.

The computer becomes a target of Cyber Crime when, by way of unauthorized access into computer system, the criminals access a computer with the motive to impair, damage or alter the system. This unauthorized access can result into other substantive violations, for example, alteration of accounts, withdrawal of money by Cyber intrusion into a bank, stealing or destroying important information/intellectual property etc., launching of viruses, worms etc. to destroy /damage /alter data e.g.

a.Unauthorised access to computer systems

b.Theft of important information / intellectual property

c. E-mail bombing

d. Data diddling

e. Salami attacks

f. Denial of Service attacks

g. Virus / Worm attacks

h. Logic bombs

i. Trojan attacks

j. Internet time thefts

k. Web jacking

l. Theft of a computer system

m. Damaging a computer system etc.

गुन्हे करण्याकरिता ज्यावेळी संगणक वापरतात त्यावेळी संगणक गुन्हयाचे साधन होतो. उदाहरणार्थ-संगणक प्रणाली व संगणकीय जाळे यांवर परिणाम करणारे गुन्हे, जसे आर्थिक / व्यावसायिक संगणक जाळे, प्रवासी कंपन्यांचे संगणक जाळे इ. मध्ये संगणक जिवाणू पसरवणे किंवा संरक्षण , सुरक्षा व बॅकांचे संगणकावरील वर्गीकृत माहिती मिळवणे. अशा प्रकारच्या गुन्हयामध्ये संगणक कार्यप्रणालीवर प्रक्रिया करुन खालील गुन्हे केले जातात.

Computer becomes an instrument of crime when it is used to facilitate crime, e.g. offences affecting large scale networks and programmes of computers such as, introducing virus into large scale travel agency network or financial network or obtaining classified information from data stored in defense, security and banking computers. In these crimes, computer programmes are manipulated to facilitate crimes namely.

अ) बॅकांचे एटीएम कार्ड व खात्यांचा फसवणुकी करिता उपयोग करणे

a. Fraudulent use of Automated Teller Machine (ATM) cards and accounts

ब) क्रेडिटकार्ड विषयक अपहार

b. Credit cards frauds

क) इलेक्ट्रॉनिक रक्कम हस्तांतरणासंबंधीचे अपहार गुन्हे

c. Frauds involving electronic funds transfers

ड) दूरसंचार अपहार

d. Telecommunication frauds

ई) संगणकीय व्यापार व माहिती देवाणघेवाणीतील अपहार

e.Frauds relating to Electronic Commerce and Electronic Data Interchange

भारतात नव्यानेच सुरू झालेल्या सायबर गुन्हयांमध्ये इंटरनेटच्या वाढत्या प्रसाराबरोबरच झपाटयाने वाढ होत आहे.

Cyber Crimes are new to India and are expanding rapidly as the use of internet spreads.

माहिती व तंत्रज्ञान अधिनियम २००० मध्ये गुन्हेगारी स्वरुपाच्या कृत्यांचे विवेचन करण्यात आलेले आहे. वस्तुतः माहिती व तंत्रज्ञानाचा व्यावसायिक उपयोग, संगणकाच्या सहाय्याने गुन्हेगारांनी केलेल्या काही कृत्यांचा व टाळलेल्या बाबींच्या अनुषंगाने वातावरण निर्मिती करणे हा सदर अधिनियमाचा प्राथमिक उद्देश आहे. इलेक्ट्रॉनिक अभिलेखांच्या मान्यतेने आणि माहिती व तंत्रज्ञान अधिनियम २००० च्या अनुषंगाने भा.दं. वि. संहितेच्या बऱ्याच कलमांमध्ये करण्यात आलेल्या दुरुस्त्यांमुळे सायबर क्षेत्राशी निगडित असणारे कित्येक गुन्हे भा.दं.वि. संहितेच्या सुयोग्य कलमाखाली दाखल करण्यात आले आहेत.

The Information Technology (I.T.) Act 2000 specifies criminal acts. However, the primary objective of the Act is to create enabling environment for commercial use of I.T., certain acts of omission and commission by criminals with use of computers. With legal recognition of Electronic Records and the amendments made in several sections of the IPC vide the IT Act, 2000, several offences having bearing on cyber area can also be registered under appropriate sections of the IPC.

राज्य गुन्हे अभिलेख केंद्राने नुकतेच पुढील शीर्षाखाली सायबर गुन्ह्यांची सांख्यिकी माहिती संकलित केली आहे. १) माहिती तंत्रज्ञान अधिनियम २००० अन्वये दाखल करण्यात आलेले गुन्हे, २) भा.दं.वि. संहिते अन्वये दाखल करण्यात आलेले गुन्हे (संगणकाच्या सहाय्याने केलेले), ३) विशेष व स्थानिक कायद्यान्वये दाखल करण्यात आलेले गुन्हे.

The SCRB has recently collected statistical information on Cyber Crimes under the following heads: 1) Offences registered under the I.T. Act 2000, 2) Offences registered under the IPC (committed with use of Computer), 3) Offences registered under Special & Local laws.

महाराष्ट्र राज्यातील सायबर गुन्ह्यांबाबत

या प्रकरणामध्ये माहिती व तंत्रज्ञान अधिनियम २००० अन्वये, भा.दं.वि. संहिता व विशेष व स्थानिक कायद्यान्वये दाखल करण्यात आलेल्या सायबर गुन्ह्यांचे वैशिष्टय असलेल्या गुन्ह्यांचे विश्लेषण करण्यात आलेले आहे. राज्यात सन २०१५ मध्ये एकूण २१९५ गुन्हे दाखल झाले असून ८२५ आरोपितांना अटक करण्यात आलेली आहे.

माहिती व तंत्रज्ञान अधिनियम २००० अन्वये दाखल गुन्ह्यांबाबत

१७.१ या कायद्यान्वये सन २०१५ मध्ये दाखल झालेल्या २१९५ गुन्ह्यांपैकी सर्वात जास्त मुंबई शहर (९७९), ठाणे शहर (१६६), औरंगाबाद शहर (१४८), नागपूर शहर (१०२) आणि पुणे शहर (८५) या प्रमाणे गुन्हे दाखल झाले आहेत. सदर दाखल २१९५ गुन्ह्यांमध्ये ८२५ आरोपींना अटक करण्यात आले आहे.

या संदर्भात दाखल झालेल्या गुन्ह्यांची व अटक आरोपींची घटक-निहाय माहिती अनुक्रमे तक्ता क्र. ८९ व तक्ता क्र. ९२ मध्ये दर्शविण्यात आली आहे.

१७.२ माहिती व तंत्रज्ञान अधिनियम - २००० खालील गुन्ह्यांत सन २०१५ मध्ये २३६ अटक करण्यात आलेल्या आरोपींची वयोगटानुसार वर्गवारी तक्ता क्र. ९२ (अ) मध्ये दर्शविली आहे. ती वर्गवारी १८ वर्षाखालील (०), १८ ते ३० वर्षे (१३१), ३० ते ४५ वर्षे (१००) आणि ४५ ते ६० वर्षे (०५) अशी आहे.

१७.३ माहिती व तंत्रज्ञान अधिनियम - २००० अन्वये सन २०१४ व सन २०१५ मध्ये दाखल झालेले गुन्हे व अटक करण्यात आलेल्या आरोपींची तुलनात्मक सांख्यिकी माहिती तक्ता क्र. १७.१ मध्ये दर्शविली आहे.

Incidences of Cyber Crimes in Maharashtra State

The cases registered under the IT Act, 2000, cases under certain sections of IPC and Special and Local Laws having characteristics of Cyber Crimes have been analysed in this chapter. During the year 2015 total 2195 cases have been registered in the state, in which 825 persons have been arrested.

Incidences of Cases Registered under IT Act, 2000

17.1 In Maharashtra, under IT Act - 2000, 2195 offences have been registered during the year 2015, highest cases recorded are as in Mumbai (C) (979) followed by Thane (C) (166), Aurangabad (C) (148), Nagpur (C) (102) and Pune (C) (85). In 2195 offences 825 persons have been arrested.

Unit-wise information of offences registered and persons arrested is shown in Table No. 89 and 92 respectively.

17.2 Age Group-wise break-up of 236 accused persons arrested under IT Act - 2000, during 2015 is shown in Table No. 92(A) . The break-up is as below:- 18 yrs. (0), between 18 to 30 yrs. (131), between 30 to 45 yrs. (100) and between 45 to 60 yrs. (05).

17.3 Comparative figures of offences registered and persons arrested under IT Act - 2000 during 2014 and 2015 are shown in Table No. 17.1.

तक्ता क्र. १७.१

सन २०१४ व २०१५ मध्ये माहिती तंत्रज्ञान अधिनियम, २००० अन्वये दाखल सायबर गुन्हे व अटक झालेल्या आरोपीची तुलनात्मक माहिती.

TABLE No.17.1

Comparative information of Cyber Crime Cases registered & Persons arrested under IT Act.2000 during 2014 & 2015

Sr. No.	Description	Cases Registered		Persons Arrested	
		2014	2015	2014	2015
1	Tampering computer source documents	3	1	2	0
2	Computer related offences	460	283	209	203
3	Cyber terrorism	4	1	**0**	0
4	Publication/transmission of obscene/sexually explicit content	17	44	11	21
5	Intentionally not complying with the order of Controller	0	0	0	0
6	Failure to provide or monitor or intercept or decrypt information	0	0	0	0
7	Failure to block access any information hosted etc	0	0	0	0
8	Not providing technical assistance to Govt. to enable online access	0	0	0	0
9	Un-authorized access/attempt to access to protected computer system	0	0	0	0
10	Misrepresentation/suppression of fact for obtaining license etc	0	0	0	0
11	Breach of confidentiality/privacy	1	1	1	1
12	Disclosure of information in breach of lawful contract	0	0	0	0
13	Publishing /making available false elect. Signature Certificate	0	0	0	0
14	Create/publish/make available Elec. Signature Certificate for unlawful purpose	1	0	0	1
15	Others	25	18	12	10
	Total	**511**	**348**	**235**	**236**

कलम ६५- संगणकाच्या मूळ विभागाची माहिती नष्ट करणे, नुकसान करणे-

सन २०१४ मध्ये ०३ गुन्हे दाखल झाले असून ०२ आरोपीस अटक करण्यात आली होती. सन २०१५ मध्ये ०१ गुन्हा दाखल झाला असून एकही आरोपी अटक करण्यात आला नाही.

Sec.65 -Tampering Computer Source Code -

During 2014, 03 offences have been registered and 02 persons have been arrested. During 2015 01 offence has been registered, in which no person is arrested.

कलम ६६(अ ते ई) - संगणक स्त्रोतांचा विध्वंस/ उपभोगिता. -

सन २०१४ मध्ये ४६० दाखल गुन्ह्यांमध्ये २०९ आरोपींना अटक करण्यात आली होती. सन २०१५ मध्ये २८३ दाखल झालेल्या गुन्ह्यांमध्ये २०३ आरोपींना अटक करण्यात आली आहे.

Sec.66(A to E) - (1) Damage to Computer Resources/ Utility -

460 cases have been registered during 2014, in which 209 persons have been arrested. During 2015, 283 cases have been registered, in which 203 persons have been arrested.

कलम ६६ (फ) - सायबर दहशतवाद-

सन २०१४ मध्ये ४ गुन्हे दाखल असून एकही आरोपी अटक नाही. सन २०१५ मध्ये ०१ गुन्हा दाखल झाला असुन एकही आरोपीस अटक करण्यात आलेली नाही.

Sec. 66 (F) - Cyber Terrorism

During 2014 04 offences have been registered and no one has been arrested. During 2015, 01 case has been registered, in which no one has been arrested.

कलम ६७ - अश्लिल वाङ्.मय प्रकाशन / इलेक्ट्रॉनिक स्वरुपात प्रक्षेपण-

सन २०१४ मध्ये १७ गुन्हे दाखल असून ११ आरोपीतांना अटक करण्यात आली होती . २०१५ मध्ये ४४ गुन्हे दाखल झाले असून २१ आरोपीतांना अटक करण्यात आली आहे.

Sec. 67 - Obscene publication / Transmission in electronic form -

During 2014, 17 offences have been registered, in which 11 persons have been arrested. During 2015, 44 offences have been registered, in which 21 persons have been arrested.

कलम ६८ - नियंत्रकाचे आदेशाची जाणीवपूवर्क पुर्तता न करणे -

सन २०१४ व सन २०१५ मध्ये एकही गुन्हा दाखल झालेला नाही.

Sec. 68 - Intentionally not complying with the order of Controller -

During 2014, no offences have been registered. During 2015 no offence has been registered.

कलम ६९ - माहिती पुरविण्यास किंवा तिचे निरीक्षण किंवा अटकाव किंवा तिची उकल करण्यास अयशस्वी होणे -

सन २०१४ व सन २०१५ मध्ये एकही गुन्हा दाखल झालेला नाही.

Sec. 69 - Failure to provide or monitor or intercept or decrypt information -

During 2014, no offences have been registered. During 2015, no offence has been registered.

कलम ७१ - परवाना इ. प्राप्त करण्यासाठी खोटी माहिता देणे/ सत्य माहिती दडपून ठेवणे -

सन २०१४ व सन २०१५ मध्ये एकही गुन्हा दाखल झालेला नाही.

Sec.71-Misrepresentation/ Suppression of fact for obtaining licence etc.

During 2014, no offences have been registered. During 2015, no offence has been registered.

कलम ७२ - गोपनीयतेचा / एकात्मतेचा भंग -

सन २०१४ मध्ये १ गुन्हा दाखल झाला असून १ आरोपीस अटक झाली होती. सन २०१५ मध्ये १ गुन्हा दाखल झाला असुन १ आरोपीस अटक झालेली आहे.

Sec. 72 - Breach of Confidentiality / Privacy -

During 2014, 1 offence has been registered, in which 1 person has been arrested. During 2015, 1 offence has been registered, in which 1 person has been arrested.

कलम ७४ - फसवी अंकीय स्वाक्षरी -

सन २०१४ मध्ये १ गुन्हा दाखल झाला असुन एकही आरोपीला अटक झालेली नाही. सन २०१५ मध्ये एकही गुन्हा दाखल झाला नसून एक अटक झालेला आरोपी हा मागील वर्षातील दाखल गुन्हयांमध्ये अटक यावर्षी केला आहे.

Sec.74 -Fraudulent Electronic Signature -

During 2014, 1 offence have been registered, no persons have been arrested. During 2015, no offence has been registered and but 1 person has been arrested in case registed in last year.

भारतीय दंड संहिते खाली दाखल गुन्हे -

१७.४ महाराष्ट्रामध्ये सन २०१५ मध्ये भारतीय दंड संहिते अन्वये १८४१ गुन्हे दाखल झाले असून ५८० आरोपीस अटक करण्यात आली आहे. मुंबई शहर येथे ९५३ गुन्हे दाखल झाले असून त्यापाठोपाठ औरंगाबाद शहर ११७, ठाणे शहर ११४, पुणे शहर ६८ व नागपूर शहर ६४ अशी क्रमवारी आहे. या संदर्भातील घटक-निहाय माहिती तक्ता क्र. ९१ व ९२ (क) मध्ये दर्शविली आहे.

Incidences of Cases Registered under IPC -

17.4 In Maharashtra during the year 2015, 1841 offences have been registered under IPC sections, in which 580, persons have been arrested. In year 2015 highest cases are registered in Mumbai City (953) followed by Aurangabad City (117), Thane City (114) Pune City (68) and Nagpur City (64). Unit-wise information is shown in Table No. 91 & 92(C).

१७.५ संगणकीय गुन्ह्यांची वैशिष्ठ्ये असलेल्या, भारतीय दंड संहिता आणि विशेष व स्थानीक कायद्यान्वये दाखल केलेल्या गुन्ह्यातील अटक केलेल्या व्यक्तींची घटक-निहाय वयोगटानुसार वर्गवारी तक्ता क्र. ९२ मध्ये दर्शविली आहे. ती वर्गवारी १८ वषार्खालील (३२) १८ ते ३० वर्षे (४३५), ३० ते ४५ वर्षे (३३३), ४५ ते ६० वर्षे (२४) आणि ६० वर्षावरील (०१) अशी आहे.

17.5 Unit-wise information regarding persons arrested under IPC sections having characteristics of Cyber Crimes and their age group - wise break - up is shown in Table No. 92. Persons arrested under cyber crimes act (IT act, IPC crimes and SLL crimes agegruopwise are : In age group below 18 yrs (32), between 18 to 30 years (435), between 30 to 45 years (333), between 45 to 60 years (24) and above 60 years (01).

१७.६ सन २०१४ व २०१५ मध्ये संगणकीय गुन्ह्यांची वैशिष्ठ्ये असलेल्या भा.दं.वि.सं. अन्वये दाखल झालेले गुन्हे व अटक करण्यात आलेल्या व्यक्तीची तुलनात्मक माहिती तक्ता क्र. १७.२ मध्ये दर्शविली आहे.

17.6 Comparative figures of offences registered and persons arrested under IPC, having characteristics of Cyber Crime during 2014 and 2015 are shown in Table No. 17.2.

तक्ता क्र. १७.२

सन २०१४ व २०१५ मधील भारतीय दंड संहिता अन्वये दाखल सायबर/संगणक गुन्हे व अटक झालेल्या आरोपींची तुलनात्मक माहिती.

TABLE No.17. 2

Comparative information of Cyber Crime Cases registered & Persons arrested under IPC during 2014 and 2015

Sr. No.	Description	Cases Registered		Persons Arrested	
		2014	2015	2014	2015
1	Offences by Public Servant	0	0	0	0
2	Fabrication/Destruction of electronic records	0	1	0	0
3	Cheating	671	1247	169	238
4	Forgery	37	19	25	10
5	Data theft	17	26	6	10
6	Criminal Breach of Trust/Fraud	33	20	28	12
6.1	Credit / Debit Card	4	7	2	4
6.2	Others	29	13	26	8
7	Counterfeiting	1	0	1	0
7.1	Currency	1	0	1	0
7.2	Stamps	0	0	0	0
8	Others	588	528	437	310
	Total	**1347**	**1841**	**666**	**580**

बनावटीकरण - कलम ४६३, ४६५, ४६६, ४६८, ४६९, ४७१, ४७४, ४७६, ४७७ अ :- सन २०१४ मध्ये ३७ गुन्हे दाखल असून त्यात २५ आरोपींना अटक करण्यात आली आहे. सन २०१५ मध्ये १९ गुन्हे दाखल असून १० आरोपीतांना अटक करण्यात आली आहे.

Forgery - Sec. 463, 465, 466, 468, 469, 471, 474, 476, 477A :- During 2014, 37 offences have been registered, in which 25 persons have been arrested. During 2015, 19 offences have been registered, in which 10 persons have been arrested.

अन्यायाने विश्वासघात / अपहार कलम - ४०५, ४०६, ४०८ व ४०९ :- सन २०१४ मध्ये ३३ दाखल गुन्ह्यांमध्ये २८ आरोपींना अटक करण्यात आली आहे. सन २०१५ मध्ये २० गुन्हे दाखल असून १२ आरोपीतांना अटक करण्यात आली आहे

Criminal Breach of Trust /Fraud - Sec. 405, 406, 408 and 409 :- During 2014, 33 offences have been registered, in which 28 persons have been arrested. During 2015, 20 offences have been registered, in which 12 persons have been arrested.

बनावट चलनी नोटा / स्टॅम्प्स् - कलम ४८२, १८३, ४८३, ४८४, ४८५, ४८९, ४८९ अ ते ४८९ ई - २०१४ मध्ये एकही गुन्हा दाखल नाही. २०१५ मध्ये ०१ गुन्हा दाखल असून ०१ आरोपीतास अटक करण्यात आली आहे.

Counterfeiting Currency / Stamps. - Sec. 482, 183, 483, 484, 485, 489 and 489 A to 489 E - During 2014, no case has been registered. During 2015, 01 case has been registered, in which 01 person has been arrested.

सायबर गुन्ह्यांचा उद्देश

१७.७ सन २०१५ सालामध्ये दाखल झालेल्या सायबर गुन्ह्यांच्या उद्देशाची माहिती तक्ता क्र. ९२- ई मध्ये दर्शविण्यात आली आहे.

Cyber Crime Motives

17.7 Motive-wise profile of Cyber Crimes registered during the year 2015 is shown in Table No. 92-E.

१७.८ विशेष व स्थानिक कायद्यान्वये सन २०१४ व सन २०१५ मध्ये दाखल झालेले गुन्हे व अटक करण्यात आलेल्या आरोपींची तुलनात्मक सांख्यिकी माहिती तक्ता क्र. १७.३ मध्ये दर्शविली आहे.

17.8 Comparative figures of offences registered and persons arrested under Special and Local laws (SLL) during 2014 and 2015 are shown in Table No. 17.3.

तक्ता क्र. १७.३

सन २०१४ व २०१५ मधील विशेष व स्थानिक कायदयान्वये दाखल सायबर/संगणक गुन्हे व अटक झालेल्या आरोपींची तुलनात्मक माहिती.

TABLE No.17. 3

Comparative information of Cyber Crime Cases registered & Persons arrested under SLL during 2014 and 2015

Sr. No.	Description	Cases Registered		Persons Arrested	
		2014	2015	2014	2015
1	Copyright Act, 1957	9	3	9	4
2	Trade Marks Act, 1999	1	0	0	0
3	Other SLL Offences	11	3	32	5
	Total	**21**	**6**	**41**	**9**

महाराष्ट्रातील सायबर क्राईम इन्वेस्टिगेशन सेल्स

१७.९ राज्यात मुंबई शहर, पुणे शहर, नवी मुंबई शहर व ठाणे शहर या ठिकाणी सायबर क्राईम इन्वेस्टिगेशन सेल सुरू करण्यात आलेले आहेत.

Cyber Crime Investigation Cells in Maharashtra

17.9 The Cyber Crime Investigation Cells have been formed in Mumbai City, Pune City, Navi Mumbai City and Thane City in the State.

तक्ता क्र. ८९

सन २०१५ मधील घडलेले एकूण दखलपात्र गुन्हे (माहिती व तंत्रज्ञान कायदा २०००, भा.द.वि. सं, वि.व स्था. कायदयांतर्गत)

Table - 89

Incidence of Total Cognizable Crimes (IT Act, IPC,SLL) During 2015

Sr.No.	Unit	IT ACT	IPC (Involving Computer as Medium/Target)	SLL (Involving Computer as Medium/Target)	Total Crimes
(1)	(2)	(3)	(4)	(5)	(6)
1	Akola	5	8	0	13
2	Amravati Rural	8	12	0	20
3	Buldhana	2	10	0	12
4	Yavatmal	3	10	0	13
5	Washim	0	8	0	8
*	**Amravati Range**	**18**	**48**	**0**	**66**
6	Aurangabad Rural	0	18	0	18
7	Jalna	8	0	0	8
8	Beed	1	17	0	18
9	Osmanabad	1	3	0	4
*	**Aurangabad Range**	**10**	**38**	**0**	**48**
10	Nanded	5	21	0	26
11	Latur	1	14	0	15
12	Parbhani	1	11	0	12
13	Hingoli	0	3	0	3
*	**Nanded Range**	**7**	**49**	**0**	**56**
14	Kolhapur	1	8	0	9
15	Pune Rural	7	35	2	44
16	Sangli	1	22	2	25
17	Satara	7	15	1	23
18	Solapur Rural	1	5	0	6
*	**Kolhapur Range**	**17**	**85**	**5**	**107**
19	Bhandara	3	3	0	6
20	Chandrapur	17	30	0	47
21	Nagpur Rural	2	11	0	13
22	Wardha	10	0	0	10
*	**Nagpur Range**	**32**	**44**	**0**	**76**
23	Gadchiroli	0	6	0	6
24	Gondia	6	7	1	14
*	**Gadchiroli Range**	**6**	**13**	**1**	**20**
25	Ahmednagar	10	6	0	16
26	Dhule	1	5	0	6
27	Jalgaon	11	6	0	17
28	Nasik Rural	4	5	0	9
29	Nandurbar	0	1	0	1
*	**Nasik Range**	**26**	**23**	**0**	**49**
30	Raigad	2	49	0	51
31	Ratnagiri	1	31	0	32
32	Sindhudurg	1	4	0	5
33	Thane Rural	4	27	0	31
34	Palghar	5	30	0	35
*	**Thane Range**	**13**	**141**	**0**	**154**
35	Mumbai Railway	0	1	0	1
36	Pune Railway	0	0	0	0
37	Nagpur Railway	0	0	0	0
*	**Railway Range**	**0**	**1**	**0**	**1**
38	Nagpur Commr.	38	64	0	102
39	Pune Commr.	17	68	0	85
40	Thane Commr.	52	114	0	166
41	Mumbai Commr.	26	953	0	979
42	Nasik Commr.	17	15	0	32
43	Aurangabad Commr.	31	117	0	148
44	Solapur Commr.	19	7	0	26
45	Navi Mumbai	12	43	0	55
46	Amravati Commr.	7	18	0	25
*	**Total Commrs.**	**219**	**1399**	**0**	**1618**
*	**Total of M.S**	**348**	**1841**	**6**	**2195**

तक्ता क्र. ९०

सन २०१५ मधील माहिती व तंत्रज्ञान कायदा २००० अंतर्गत घडलेले दखलपात्र गुन्हे

Table - 90

Incidence of Cognizable Crimes under IT Act During 2015

Sr.No.	Unit	Tampering computer source documents (Section 65)	Computer related offences (Section 66 and Section 66 A to E)						
			Computer related offences (Section 66 & Section 66 A to E)-Total	Under Section 66A	Under Section 66B	Under Section 66C	Under Section 66D	Under Section 66E	Cyber terrorism Section 66 F
(1)	(2)	(3)	(4)	(5)	(6)	(7)	(8)	(9)	(10)
1	Akola	0	2	2	0	0	0	0	0
2	Amravati Rural	0	8	8	0	0	0	0	0
3	Buldhana	0	1	1	0	0	0	0	0
4	Yavatmal	0	3	3	0	0	0	0	0
5	Washim	0	0	0	0	0	0	0	0
*	**Amravati Range**	**0**	**14**	**14**	**0**	**0**	**0**	**0**	**0**
6	Aurangabad Rural	0	0	0	0	0	0	0	0
7	Jalna	0	4	4	0	0	0	0	0
8	Beed	0	0	0	0	0	0	0	0
9	Osmanabad	0	0	0	0	0	0	0	0
*	**Aurangabad Range**	**0**	**4**	**4**	**0**	**0**	**0**	**0**	**0**
10	Nanded	0	5	5	0	0	0	0	0
11	Latur	0	1	1	0	0	0	0	0
12	Parbhani	0	1	1	0	0	0	0	0
13	Hingoli	0	0	0	0	0	0	0	0
*	**Nanded Range**	**0**	**7**	**7**	**0**	**0**	**0**	**0**	**0**
14	Kolhapur	0	0	0	0	0	0	0	0
15	Pune Rural	0	6	2	0	4	0	0	0
16	Sangli	0	1	1	0	0	0	0	0
17	Satara	0	7	4	1	2	0	0	0
18	Solapur Rural	0	1	1	0	0	0	0	0
*	**Kolhapur Range**	**0**	**15**	**8**	**1**	**6**	**0**	**0**	**0**
19	Bhandara	0	3	2	0	0	0	1	0
20	Chandrapur	0	7	2	0	3	2	0	1
21	Nagpur Rural	0	2	2	0	0	0	0	0
22	Wardha	0	8	0	0	0	8	0	0
*	**Nagpur Range**	**0**	**20**	**6**	**0**	**3**	**10**	**1**	**1**
23	Gadchiroli	0	0	0	0	0	0	0	0
24	Gondia	0	6	6	0	0	0	0	0
*	**Gadchiroli Range**	**0**	**6**	**6**	**0**	**0**	**0**	**0**	**0**
25	Ahmednagar	0	10	3	1	3	3	0	0
26	Dhule	0	0	0	0	0	0	0	0
27	Jalgaon	0	4	4	0	0	0	0	0
28	Nasik Rural	0	3	2	1	0	0	0	0
29	Nandurbar	0	0	0	0	0	0	0	0
*	**Nasik Range**	**0**	**17**	**9**	**2**	**3**	**3**	**0**	**0**
30	Raigad	0	2	1	0	1	0	0	0
31	Ratnagiri	0	1	0	0	1	0	0	0
32	Sindhudurg	0	1	1	0	0	0	0	0
33	Thane Rural	0	3	1	1	1	0	0	0
34	Palghar	0	4	1	1	0	2	0	0
*	**Thane Range**	**0**	**11**	**4**	**2**	**3**	**2**	**0**	**0**
35	Mumbai Railway	0	0	0	0	0	0	0	0
36	Pune Railway	0	0	0	0	0	0	0	0
37	Nagpur Railway	0	0	0	0	0	0	0	0
*	**Railway Range**	**0**	**0**	**0**	**0**	**0**	**0**	**0**	**0**
38	Nagpur Commr.	0	33	5	0	17	11	0	0
39	Pune Commr.	0	16	4	0	9	3	0	0
40	Thane Commr.	0	45	10	3	16	15	1	0
41	Mumbai Commr.	0	17	11	0	4	2	0	0
42	Nasik Commr.	0	16	8	0	0	8	0	0
43	Aurangabad Commr.	1	26	14	0	10	2	0	0
44	Solapur Commr.	0	19	19	0	0	0	0	0
45	Navi Mumbai	0	11	5	3	0	3	0	0
46	Amravati Commr.	0	6	3	0	0	2	1	0
*	**Total Commrs.**	**1**	**189**	**79**	**6**	**56**	**46**	**2**	**0**
*	**Total of M.S**	**1**	**283**	**137**	**11**	**71**	**61**	**3**	**1**

तक्ता क्र. ९० (चालू)

Table - 90 (Continued)

Sr.No.	Unit	Publication/transmission of obscene / sexually explicit act, etc in electronic form (Section 67 and Section 67 A to C)				Intentionally or knowingly not complying with the order of Controller (Section 68)	Failure to provide information stored in computer resource or failure to provide access to intercept or monitor or decrypt the information (Section 69)	Failure to block access by the public or cause to be blocked for access by public any information generated, transmitted, received, stored or hosted in any computer resource (Section 69 A)	Intermediary or any person in-charge of computer resource not providing technical assistance to any agency authorized by Govt. to enable online access to computer resource (Section 69 B)
		Publication/ transmission of obscene / sexually explicit act, etc in electronic form (Total)	Under Section 67A	Under Section 67B	Under Section 67C				
(1)	(2)	(11)	(12)	(13)	(14)	(15)	(16)	(17)	(18)
1	Akola	3	3	0	0	0	0	0	0
2	Amravati Rural	0	0	0	0	0	0	0	0
3	Buldhana	1	1	0	0	0	0	0	0
4	Yavatmal	0	0	0	0	0	0	0	0
5	Washim	0	0	0	0	0	0	0	0
*	**Amravati Range**	**4**	**4**	**0**	**0**	**0**	**0**	**0**	**0**
6	Aurangabad Rural	0	0	0	0	0	0	0	0
7	Jalna	3	2	1	0	0	0	0	0
8	Beed	1	1	0	0	0	0	0	0
9	Osmanabad	1	1	0	0	0	0	0	0
*	**Aurangabad Range**	**5**	**4**	**1**	**0**	**0**	**0**	**0**	**0**
10	Nanded	0	0	0	0	0	0	0	0
11	Latur	0	0	0	0	0	0	0	0
12	Parbhani	0	0	0	0	0	0	0	0
13	Hingoli	0	0	0	0	0	0	0	0
*	**Nanded Range**	**0**	**0**	**0**	**0**	**0**	**0**	**0**	**0**
14	Kolhapur	1	1	0	0	0	0	0	0
15	Pune Rural	1	1	0	0	0	0	0	0
16	Sangli	0	0	0	0	0	0	0	0
17	Satara	0	0	0	0	0	0	0	0
18	Solapur Rural	0	0	0	0	0	0	0	0
*	**Kolhapur Range**	**2**	**2**	**0**	**0**	**0**	**0**	**0**	**0**
19	Bhandara	0	0	0	0	0	0	0	0
20	Chandrapur	1	1	0	0	0	0	0	0
21	Nagpur Rural	0	0	0	0	0	0	0	0
22	Wardha	2	2	0	0	0	0	0	0
*	**Nagpur Range**	**3**	**3**	**0**	**0**	**0**	**0**	**0**	**0**
23	Gadchiroli	0	0	0	0	0	0	0	0
24	Gondia	0	0	0	0	0	0	0	0
*	**Gadchiroli Range**	**0**	**0**	**0**	**0**	**0**	**0**	**0**	**0**
25	Ahmednagar	0	0	0	0	0	0	0	0
26	Dhule	1	1	0	0	0	0	0	0
27	Jalgaon	7	7	0	0	0	0	0	0
28	Nasik Rural	1	0	0	1	0	0	0	0
29	Nandurbar	0	0	0	0	0	0	0	0
*	**Nasik Range**	**9**	**8**	**0**	**1**	**0**	**0**	**0**	**0**
30	Raigad	0	0	0	0	0	0	0	0
31	Ratnagiri	0	0	0	0	0	0	0	0
32	Sindhudurg	0	0	0	0	0	0	0	0
33	Thane Rural	1	1	0	0	0	0	0	0
34	Palghar	1	1	0	0	0	0	0	0
*	**Thane Range**	**2**	**2**	**0**	**0**	**0**	**0**	**0**	**0**
35	Mumbai Railway	0	0	0	0	0	0	0	0
36	Pune Railway	0	0	0	0	0	0	0	0
37	Nagpur Railway	0	0	0	0	0	0	0	0
*	**Railway Range**	**0**	**0**	**0**	**0**	**0**	**0**	**0**	**0**
38	Nagpur Commr.	4	4	0	0	0	0	0	0
39	Pune Commr.	1	1	0	0	0	0	0	0
40	Thane Commr.	1	1	0	0	0	0	0	0
41	Mumbai Commr.	6	6	0	0	0	0	0	0
42	Nasik Commr.	1	1	0	0	0	0	0	0
43	Aurangabad Commr.	4	4	0	0	0	0	0	0
44	Solapur Commr.	0	0	0	0	0	0	0	0
45	Navi Mumbai	1	1	0	0	0	0	0	0
46	Amravati Commr.	1	1	0	0	0	0	0	0
*	**Total Commrs.**	**19**	**19**	**0**	**0**	**0**	**0**	**0**	**0**
*	**Total of M.S**	**44**	**42**	**1**	**1**	**0**	**0**	**0**	**0**

तक्ता क्र. ९० (पूर्ण)

Table - 90 (CONCLUDED)

Sr.No.	Unit	Un-authorized access/attempt to access to protected computer system (Section 70)	Misrepresentation/ suppression of fact for obtaining license or Electronic Signature Certificate (Section 71)	Breach of confidentiality/ privacy (Section 72)	Disclosure of information in breach of lawful contract (Section 72 A)	Publishing /making available false Electronic Signature Certificate (Section 73)	Create/publish/ make available Electronic Signature Certificate for fraudulent/ unlawful purpose (Section 74)	Others	Total (excluding sub heads)
(1)	(2)	(19)	(20)	(21)	(22)	(23)	(24)	(25)	(26)
1	Akola	0	0	0	0	0	0	0	5
2	Amravati Rural	0	0	0	0	0	0	0	8
3	Buldhana	0	0	0	0	0	0	0	2
4	Yavatmal	0	0	0	0	0	0	0	3
5	Washim	0	0	0	0	0	0	0	0
*	**Amravati Range**	**0**	**0**	**0**	**0**	**0**	**0**	**0**	**18**
6	Aurangabad Rural	0	0	0	0	0	0	0	0
7	Jalna	0	0	1	0	0	0	0	8
8	Beed	0	0	0	0	0	0	0	1
9	Osmanabad	0	0	0	0	0	0	0	1
*	**Aurangabad Range**	**0**	**0**	**1**	**0**	**0**	**0**	**0**	**10**
10	Nanded	0	0	0	0	0	0	0	5
11	Latur	0	0	0	0	0	0	0	1
12	Parbhani	0	0	0	0	0	0	0	1
13	Hingoli	0	0	0	0	0	0	0	0
*	**Nanded Range**	**0**	**0**	**0**	**0**	**0**	**0**	**0**	**7**
14	Kolhapur	0	0	0	0	0	0	0	1
15	Pune Rural	0	0	0	0	0	0	0	7
16	Sangli	0	0	0	0	0	0	0	1
17	Satara	0	0	0	0	0	0	0	7
18	Solapur Rural	0	0	0	0	0	0	0	1
*	**Kolhapur Range**	**0**	**0**	**0**	**0**	**0**	**0**	**0**	**17**
19	Bhandara	0	0	0	0	0	0	0	3
20	Chandrapur	0	0	0	0	0	0	8	17
21	Nagpur Rural	0	0	0	0	0	0	0	10
22	Wardha	0	0	0	0	0	0	0	2
*	**Nagpur Range**	**0**	**0**	**0**	**0**	**0**	**0**	**8**	**32**
23	Gadchiroli	0	0	0	0	0	0	0	0
24	Gondia	0	0	0	0	0	0	0	6
*	**Gadchiroli Range**	**0**	**0**	**0**	**0**	**0**	**0**	**0**	**6**
25	Ahmednagar	0	0	0	0	0	0	0	10
26	Dhule	0	0	0	0	0	0	0	1
27	Jalgaon	0	0	0	0	0	0	0	11
28	Nasik Rural	0	0	0	0	0	0	0	4
29	Nandurbar	0	0	0	0	0	0	0	0
*	**Nasik Range**	**0**	**0**	**0**	**0**	**0**	**0**	**0**	**26**
30	Raigad	0	0	0	0	0	0	0	2
31	Ratnagiri	0	0	0	0	0	0	0	1
32	Sindhudurg	0	0	0	0	0	0	0	1
33	Thane Rural	0	0	0	0	0	0	0	4
34	Palghar	0	0	0	0	0	0	0	5
*	**Thane Range**	**0**	**0**	**0**	**0**	**0**	**0**	**0**	**13**
35	Mumbai Railway	0	0	0	0	0	0	0	0
36	Pune Railway	0	0	0	0	0	0	0	0
37	Nagpur Railway	0	0	0	0	0	0	0	0
*	**Railway Range**	**0**	**0**	**0**	**0**	**0**	**0**	**0**	**0**
38	Nagpur Commr.	0	0	0	0	0	0	1	38
39	Pune Commr.	0	0	0	0	0	0	0	17
40	Thane Commr.	0	0	0	0	0	0	6	52
41	Mumbai Commr.	0	0	0	0	0	0	3	26
42	Nasik Commr.	0	0	0	0	0	0	0	17
43	Aurangabad Commr.	0	0	0	0	0	0	0	31
44	Solapur Commr.	0	0	0	0	0	0	0	19
45	Navi Mumbai	0	0	0	0	0	0	0	12
46	Amravati Commr.	0	0	0	0	0	0	0	7
*	**Total Commrs.**	**0**	**0**	**0**	**0**	**0**	**0**	**10**	**219**
*	**Total of M.S**	**0**	**0**	**1**	**0**	**0**	**0**	**18**	**348**

तक्ता क्र. ९१

सन २०१५ मधील (संगणकाचा माध्यम /लक्ष्य म्हणून वापर करून) भा.द.वि. सं अंतर्गत घडलेले दखलपात्र गुन्हे

Table - 91

Incidence of Cognizable Crimes under IPC (involving Computer As Medium/Target) During 2015

Sr.No.	Unit	Offences by Public Servant (Section 167)	Fabrication/Destruction of electronic records for evidence (Section 193, 204)	Cheating (Section 420)	Forgery (Section 465-469,471& 477A)	Data theft (Section 379 to 381)	Criminal Breach of Trust/Fraud (Section 406, 408, 409) - Total
(1)	(2)	(3)	(4)	(5)	(6)	(7)	(8)
1	Akola	0	0	2	0	0	0
2	Amravati Rural	0	0	9	0	0	0
3	Buldhana	0	1	7	0	0	0
4	Yavatmal	0	0	6	0	0	0
5	Washim	0	0	1	0	0	1
*	**Amravati Range**	**0**	**1**	**25**	**0**	**0**	**1**
6	Aurangabad Rural	0	0	13	0	0	1
7	Jalna	0	0	0	0	0	0
8	Beed	0	0	8	0	0	0
9	Osmanabad	0	0	0	0	0	0
*	**Aurangabad Range**	**0**	**0**	**21**	**0**	**0**	**1**
10	Nanded	0	0	5	0	0	0
11	Latur	0	0	10	0	0	0
12	Parbhani	0	0	1	0	0	0
13	Hingoli	0	0	0	0	0	0
*	**Nanded Range**	**0**	**0**	**16**	**0**	**0**	**0**
14	Kolhapur	0	0	5	0	0	0
15	Pune Rural	0	0	26	0	0	0
16	Sangli	0	0	15	0	0	0
17	Satara	0	0	8	0	0	0
18	Solapur Rural	0	0	1	1	0	0
*	**Kolhapur Range**	**0**	**0**	**55**	**1**	**0**	**0**
19	Bhandara	0	0	3	0	0	0
20	Chandrapur	0	0	10	0	3	1
21	Nagpur Rural	0	0	5	0	0	1
22	Wardha	0	0	0	0	0	0
*	**Nagpur Range**	**0**	**0**	**18**	**0**	**3**	**2**
23	Gadchiroli	0	0	5	0	0	0
24	Gondia	0	0	1	0	0	0
*	**Gadchiroli Range**	**0**	**0**	**6**	**0**	**0**	**0**
25	Ahmednagar	0	0	2	0	0	0
26	Dhule	0	0	3	0	0	0
27	Jalgaon	0	0	1	0	0	1
28	Nasik Rural	0	0	3	0	0	0
29	Nandurbar	0	0	1	0	0	0
*	**Nasik Range**	**0**	**0**	**10**	**0**	**0**	**1**
30	Raigad	0	0	39	0	0	0
31	Ratnagiri	0	0	21	0	2	0
32	Sindhudurg	0	0	2	0	0	0
33	Thane Rural	0	0	5	1	0	0
34	Palghar	0	0	16	0	1	0
*	**Thane Range**	**0**	**0**	**83**	**1**	**3**	**0**
35	Mumbai Railway	0	0	0	0	0	0
36	Pune Railway	0	0	0	0	0	0
37	Nagpur Railway	0	0	0	0	0	0
*	**Railway Range**	**0**	**0**	**0**	**0**	**0**	**0**
38	Nagpur Commr.	0	0	46	0	0	0
39	Pune Commr.	0	0	62	0	0	2
40	Thane Commr.	0	0	73	2	4	0
41	Mumbai Commr.	0	0	692	15	13	13
42	Nasik Commr.	0	0	8	0	2	0
43	Aurangabad Commr.	0	0	88	0	0	0
44	Solapur Commr.	0	0	4	0	0	0
45	Navi Mumbai	0	0	27	0	1	0
46	Amravati Commr.	0	0	13	0	0	0
*	**Total Commrs.**	**0**	**0**	**1013**	**17**	**20**	**15**
*	**Total of M.S**	**0**	**1**	**1247**	**19**	**26**	**20**

तक्ता क्र. ९१ (पूर्ण)

Table - 91 (CONCLUDED)

Sr.No.	Unit	(Criminal Breach of Trust/Fraud (Section 406, 408, 409)		Counterfeiting			Others	Total Cognizable crimes under IPC (Involving Computer as Medium/Target)
		Debit Card	Others	Counterfeiting (Total)	Currency (Section 489A to 489E)	Stamps (Section 255)		
(1)	(2)	(9)	(10)	(11)	(12)	(13)	(14)	(15)
1	Akola	0	0	0	0	0	6	8
2	Amravati Rural	0	0	0	0	0	3	12
3	Buldhana	0	0	0	0	0	2	10
4	Yavatmal	0	0	0	0	0	4	10
5	Washim	0	1	0	0	0	6	8
*	**Amravati Range**	**0**	**1**	**0**	**0**	**0**	**21**	**48**
6	Aurangabad Rural	0	1	0	0	0	4	18
7	Jalna	0	0	0	0	0	0	0
8	Beed	0	0	0	0	0	9	17
9	Osmanabad	0	0	0	0	0	3	3
*	**Aurangabad Range**	**0**	**1**	**0**	**0**	**0**	**16**	**38**
10	Nanded	0	0	0	0	0	16	21
11	Latur	0	0	0	0	0	4	14
12	Parbhani	0	0	0	0	0	10	11
13	Hingoli	0	0	0	0	0	3	3
*	**Nanded Range**	**0**	**0**	**0**	**0**	**0**	**33**	**49**
14	Kolhapur	0	0	0	0	0	3	8
15	Pune Rural	0	0	0	0	0	9	35
16	Sangli	0	0	0	0	0	7	22
17	Satara	0	0	0	0	0	7	15
18	Solapur Rural	0	0	0	0	0	3	5
*	**Kolhapur Range**	**0**	**0**	**0**	**0**	**0**	**29**	**85**
19	Bhandara	0	0	0	0	0	0	3
20	Chandrapur	0	1	0	0	0	16	30
21	Nagpur Rural	0	1	0	0	0	5	11
22	Wardha	0	0	0	0	0	0	0
*	**Nagpur Range**	**0**	**2**	**0**	**0**	**0**	**21**	**44**
23	Gadchiroli	0	0	0	0	0	5	6
24	Gondia	0	0	0	0	0	2	7
*	**Gadchiroli Range**	**0**	**0**	**0**	**0**	**0**	**7**	**13**
25	Ahmednagar	0	0	0	0	0	4	6
26	Dhule	0	0	0	0	0	2	5
27	Jalgaon	0	1	0	0	0	4	6
28	Nasik Rural	0	0	0	0	0	2	5
29	Nandurbar	0	0	0	0	0	0	1
*	**Nasik Range**	**0**	**1**	**0**	**0**	**0**	**12**	**23**
30	Raigad	0	0	0	0	0	10	49
31	Ratnagiri	0	0	0	0	0	8	31
32	Sindhudurg	0	0	0	0	0	2	4
33	Thane Rural	0	0	0	0	0	21	27
34	Palghar	0	0	0	0	0	13	30
*	**Thane Range**	**0**	**0**	**0**	**0**	**0**	**54**	**141**
35	Mumbai Railway	0	0	0	0	0	1	1
36	Pune Railway	0	0	0	0	0	0	0
37	Nagpur Railway	0	0	0	0	0	0	0
*	**Railway Range**	**0**	**0**	**0**	**0**	**0**	**1**	**1**
38	Nagpur Commr.	0	0	0	0	0	18	64
39	Pune Commr.	0	2	0	0	0	4	68
40	Thane Commr.	0	0	0	0	0	35	114
41	Mumbai Commr.	7	6	0	0	0	220	953
42	Nasik Commr.	0	0	0	0	0	5	15
43	Aurangabad Commr.	0	0	0	0	0	29	117
44	Solapur Commr.	0	0	0	0	0	3	7
45	Navi Mumbai	0	0	0	0	0	15	43
46	Amravati Commr.	0	0	0	0	0	5	18
*	**Total Commrs.**	**7**	**8**	**0**	**0**	**0**	**334**	**1399**
*	**Total of M.S**	**7**	**13**	**0**	**0**	**0**	**528**	**1841**

तक्ता क्र. ९२

सन २०१५ मधील (संगणकाचा माध्यम /लक्ष्य म्हणून वापर करून) वि. व स्था. कायद्यांतर्गत घडलेले दखलपात्र गुन्हे

Table - 92

Incidence of Cognizable Crimes under SLL(involving Computer As Medium/Target) During 2015

Sr.No.	District Name	Copy Right Act, 1957				Trade Marks Act, 1999(Total)	
		Copyright Act, 1957(Total)	Under Section 63	Under Section 68A	Others	Trade Marks Act	Under Section 102
(1)	(2)	(3)	(4)	(5)	(6)	(7)	(8)
1	Akola	0	0	0	0	0	0
2	Amravati Rural	0	0	0	0	0	0
3	Buldhana	0	0	0	0	0	0
4	Yavatmal	0	0	0	0	0	0
5	Washim	0	0	0	0	0	0
*	**Amravati Range**	**0**	**0**	**0**	**0**	**0**	**0**
6	Aurangabad Rural	0	0	0	0	0	0
7	Jalna	0	0	0	0	0	0
8	Beed	0	0	0	0	0	0
9	Osmanabad	0	0	0	0	0	0
*	**Aurangabad Range**	**0**	**0**	**0**	**0**	**0**	**0**
10	Nanded	0	0	0	0	0	0
11	Latur	0	0	0	0	0	0
12	Parbhani	0	0	0	0	0	0
13	Hingoli	0	0	0	0	0	0
*	**Nanded Range**	**0**	**0**	**0**	**0**	**0**	**0**
14	Kolhapur	0	0	0	0	0	0
15	Pune Rural	1	1	0	0	0	0
16	Sangli	2	2	0	0	0	0
17	Satara	0	0	0	0	0	0
18	Solapur Rural	0	0	0	0	0	0
*	**Kolhapur Range**	**3**	**3**	**0**	**0**	**0**	**0**
19	Bhandara	0	0	0	0	0	0
20	Chandrapur	0	0	0	0	0	0
21	Nagpur Rural	0	0	0	0	0	0
22	Wardha	0	0	0	0	0	0
*	**Nagpur Range**	**0**	**0**	**0**	**0**	**0**	**0**
23	Gadchiroli	0	0	0	0	0	0
24	Gondia	0	0	0	0	0	0
*	**Gadchiroli Range**	**0**	**0**	**0**	**0**	**0**	**0**
25	Ahmednagar	0	0	0	0	0	0
26	Dhule	0	0	0	0	0	0
27	Jalgaon	0	0	0	0	0	0
28	Nasik Rural	0	0	0	0	0	0
29	Nandurbar	0	0	0	0	0	0
*	**Nasik Range**	**0**	**0**	**0**	**0**	**0**	**0**
30	Raigad	0	0	0	0	0	0
31	Ratnagiri	0	0	0	0	0	0
32	Sindhudurg	0	0	0	0	0	0
33	Thane Rural	0	0	0	0	0	0
34	Palghar	0	0	0	0	0	0
*	**Thane Range**	**0**	**0**	**0**	**0**	**0**	**0**
35	Mumbai Railway	0	0	0	0	0	0
36	Pune Railway	0	0	0	0	0	0
37	Nagpur Railway	0	0	0	0	0	0
*	**Railway Range**	**0**	**0**	**0**	**0**	**0**	**0**
38	Nagpur Commr.	0	0	0	0	0	0
39	Pune Commr.	0	0	0	0	0	0
40	Thane Commr.	0	0	0	0	0	0
41	Mumbai Commr.	0	0	0	0	0	0
42	Nasik Commr.	0	0	0	0	0	0
43	Aurangabad Commr.	0	0	0	0	0	0
44	Solapur Commr.	0	0	0	0	0	0
45	Navi Mumbai	0	0	0	0	0	0
46	Amravati Commr.	0	0	0	0	0	0
*	**Total Commrs.**	**0**	**0**	**0**	**0**	**0**	**0**
*	**Total**	**3**	**3**	**0**	**0**	**0**	**0**

तक्ता क्र. ९२ (पूर्ण)

Table - 92 (CONCLUDED)

Sr.No.	District Name	Trade Marks Act, 1999			Other SLL offences (Involving Computer as Medium/Target)	Total Offences under SLL (Involving Computer as Medium/Target)
		Under Section 103	Under Section 104	Others		
(1)	(2)	(9)	(10)	(11)	(12)	(13)
1	Akola	0	0	0	0	0
2	Amravati Rural	0	0	0	0	0
3	Buldhana	0	0	0	0	0
4	Yavatmal	0	0	0	0	0
5	Washim	0	0	0	0	0
*	**Amravati Range**	**0**	**0**	**0**	**0**	**0**
6	Aurangabad Rural	0	0	0	0	0
7	Jalna	0	0	0	0	0
8	Beed	0	0	0	0	0
9	Osmanabad	0	0	0	0	0
*	**Aurangabad Range**	**0**	**0**	**0**	**0**	**0**
10	Nanded	0	0	0	0	0
11	Latur	0	0	0	0	0
12	Parbhani	0	0	0	0	0
13	Hingoli	0	0	0	0	0
*	**Nanded Range**	**0**	**0**	**0**	**0**	**0**
14	Kolhapur	0	0	0	0	0
15	Pune Rural	0	0	0	1	2
16	Sangli	0	0	0	0	2
17	Satara	0	0	0	1	1
18	Solapur Rural	0	0	0	0	0
*	**Kolhapur Range**	**0**	**0**	**0**	**2**	**5**
19	Bhandara	0	0	0	0	0
20	Chandrapur	0	0	0	0	0
21	Nagpur Rural	0	0	0	0	0
22	Wardha	0	0	0	0	0
*	**Nagpur Range**	**0**	**0**	**0**	**0**	**0**
23	Gadchiroli	0	0	0	0	0
24	Gondia	0	0	0	1	1
*	**Gadchiroli Range**	**0**	**0**	**0**	**1**	**1**
25	Ahmednagar	0	0	0	0	0
26	Dhule	0	0	0	0	0
27	Jalgaon	0	0	0	0	0
28	Nasik Rural	0	0	0	0	0
29	Nandurbar	0	0	0	0	0
*	**Nasik Range**	**0**	**0**	**0**	**0**	**0**
30	Raigad	0	0	0	0	0
31	Ratnagiri	0	0	0	0	0
32	Sindhudurg	0	0	0	0	0
33	Thane Rural	0	0	0	0	0
34	Palghar	0	0	0	0	0
*	**Thane Range**	**0**	**0**	**0**	**0**	**0**
35	Mumbai Railway	0	0	0	0	0
36	Pune Railway	0	0	0	0	0
37	Nagpur Railway	0	0	0	0	0
*	**Railway Range**	**0**	**0**	**0**	**0**	**0**
38	Nagpur Commr.	0	0	0	0	0
39	Pune Commr.	0	0	0	0	0
40	Thane Commr.	0	0	0	0	0
41	Mumbai Commr.	0	0	0	0	0
42	Nasik Commr.	0	0	0	0	0
43	Aurangabad Commr.	0	0	0	0	0
44	Solapur Commr.	0	0	0	0	0
45	Navi Mumbai	0	0	0	0	0
46	Amravati Commr.	0	0	0	0	0
*	**Total Commrs.**	**0**	**0**	**0**	**0**	**0**
*	**Total**	**0**	**0**	**0**	**3**	**6**

तक्ता क्र. ९२ (अ)

सन २०१४ मधील (माहिती व तंत्रज्ञान कायदा २०००, भा.द.वि. सं, वि.व स्था. कायदा) सायबर गुन्हयांमधे अटक आरोपीतांची लिंग व वयोगटानुसार(गुन्हा शिर्षकानुसार) वर्गवारी

Table - 92 (A)

Persons Arrested under Cyber Crimes (IT Act, IPC Crimes, SLL Crimes)by Age Groups & Sex (Crime Head-wise) During 2015

Sr.No	Crime Head	Below 18 years			18 & Above and Below 30 years		
		Male	Female	Total	Male	Female	Total
1	2	3	4	5	6	7	8
	Part - A: Offences Under I.T Act:						
1	IT - Tampering computer source documents	0	0	0	0	0	0
2	IT - Computer related offences	0	0	0	110	1	111
2.1	Computer related offences-Under Section 66A	0	0	0	76	1	77
2.2	Computer related offences-Under Section 66B	0	0	0	5	0	5
2.3	Computer related offences-Under Section 66C	0	0	0	12	0	12
2.4	Computer related offences-Under Section 66D	0	0	0	16	0	16
2.5	Computer related offences-Under Section 66E	0	0	0	1	0	1
3	IT - Cyber terrorism	0	0	0	0	0	0
4	IT - Publication/transmission of obscene/sexually explicit content	0	0	0	9	0	9
4.1	Under section 67A	0	0	0	8	0	8
4.2	Under section 67B	0	0	0	1	0	1
4.3	Under Section 67C	0	0	0	0	0	0
5	IT - Intentionally not complying with the order of Controller	0	0	0	0	0	0
6	IT - Failure to provide or monitor or intercept or decrypt information	0	0	0	0	0	0
7	IT - Failure to block access any information hosted etc	0	0	0	0	0	0
8	IT - Not providing technical assistance to Govt. to enable online access	0	0	0	0	0	0
9	IT - Un-authorized access/attempt to access to protected computer system	0	0	0	0	0	0
10	IT - Misrepresentation/suppression of fact for obtaining license etc	0	0	0	0	0	0
11	IT - Breach of confidentiality/privacy	0	0	0	1	0	1
12	IT - Disclosure of information in breach of lawful contract	0	0	0	0	0	0
13	IT - Publishing /making available false elect. Signature Certificate	0	0	0	0	0	0
14	IT - Create/publish/make available Elec. Signature Certificate for unlawful purpose	0	0	0	1	0	1
15	IT - Others	0	0	0	9	0	9
	Total Offences under IT Act	**0**	**0**	**0**	**130**	**1**	**131**
	Part - B: Offences Under Ipc:						
1	IPC - Offences by Public Servant	0	0	0	0	0	0
2	IPC - Fabrication/Destruction of electronic records for evidence	0	0	0	0	0	0
3	IPC - Cheating	9	0	9	106	2	108
4	IPC - Forgery	0	0	0	2	0	2
5	IPC - Data theft	1	1	2	5	2	7
6	IPC - Criminal Breach of Trust/Fraud	0	0	0	9	0	9
6.1	IPC - Credit / Debit Card	0	0	0	2	0	2
6.2	IPC - Others	0	0	0	7	0	7
7	IPC - Counterfeiting	0	0	0	0	0	0
7.1	IPC - Currency	0	0	0	0	0	0
7.2	IPC - Stamps	0	0	0	0	0	0
8	IPC - Others	21	0	21	172	5	177
	Total Offences under IPC	**31**	**1**	**32**	**294**	**9**	**303**
	Part - C: Offences Under SLL:						
1	Copyright Act, 1957	0	0	0	0	0	0
1.1	Under Section 63	0	0	0	0	0	0
1.2	Under Section 68A	0	0	0	0	0	0
1.3	Others	0	0	0	0	0	0
2	Trade Marks Act, 1999	0	0	0	0	0	0
2.1	Under Section 102	0	0	0	0	0	0
2.2	Under Section 103	0	0	0	0	0	0
2.3	Under Section 104	0	0	0	0	0	0
2.4	Others	0	0	0	0	0	0
3	Other SLL Offences	0	0	0	1	0	1
	Total Offences under SLL	**0**	**0**	**0**	**1**	**0**	**1**

तक्ता क्र. ९२ (अ) (चालू)

Table - 92 (A) (Continued)

Sr.No	Crime Head	30 years and above and below 45 year			45 years and above and below 60year		
		Male	Female	Total	Male	Female	Total
1	2	9	10	11	12	13	14
	Part - A: Offences Under I.T Act:						
1	IT - Tampering computer source documents	0	0	0	0	0	0
2	IT - Computer related offences	86	2	88	3	1	4
2.1	Computer related offences-Under Section 66A	66	0	66	2	1	3
2.2	Computer related offences-Under Section 66B	3	1	4	0	0	0
2.3	Computer related offences-Under Section 66C	10	1	11	1	0	1
2.4	Computer related offences-Under Section 66D	6	0	6	0	0	0
2.5	Computer related offences-Under Section 66E	1	0	1	0	0	0
3	IT - Cyber terrorism	0	0	0	0	0	0
4	IT - Publication/transmission of obscene/sexually explicit content	11	0	11	1	0	1
4.1	Under section 67A	11	0	11	1	0	1
4.2	Under section 67B	0	0	0	0	0	0
4.3	Under Section 67C	0	0	0	0	0	0
5	IT - Intentionally not complying with the order of Controller	0	0	0	0	0	0
6	IT - Failure to provide or monitor or intercept or decrypt information	0	0	0	0	0	0
7	IT - Failure to block access any information hosted etc	0	0	0	0	0	0
8	IT - Not providing technical assistance to Govt. to enable online access	0	0	0	0	0	0
9	IT - Un-authorized access/attempt to access to protected computer system	0	0	0	0	0	0
10	IT - Misrepresentation/suppression of fact for obtaining license etc	0	0	0	0	0	0
11	IT - Breach of confidentiality/privacy	0	0	0	0	0	0
12	IT - Disclosure of information in breach of lawful contract	0	0	0	0	0	0
13	IT - Publishing /making available false elect. Signature Certificate	0	0	0	0	0	0
14	IT - Create/publish/make available Elec. Signature Certificate for unlawful purpose	0	0	0	0	0	0
15	IT - Others	1	0	1	0	0	0
	Total Offences under IT Act	**98**	**2**	**100**	**4**	**1**	**5**
	Part - B: Offences Under Ipc:						
1	IPC - Offences by Public Servant	0	0	0	0	0	0
2	IPC - Fabrication/Destruction of electronic records for evidence	0	0	0	0	0	0
3	IPC - Cheating	115	0	115	5	1	6
4	IPC - Forgery	8	0	8	0	0	0
5	IPC - Data theft	1	0	1	0	0	0
6	IPC - Criminal Breach of Trust/Fraud	3	0	3	0	0	0
6.1	IPC - Credit / Debit Card	2	0	2	0	0	0
6.2	IPC - Others	1	0	1	0	0	0
7	IPC - Counterfeiting	0	0	0	0	0	0
7.1	IPC - Currency	0	0	0	0	0	0
7.2	IPC - Stamps	0	0	0	0	0	0
8	IPC - Others	94	5	99	12	0	12
	Total Offences under IPC	**221**	**5**	**226**	**17**	**1**	**18**
	Part - C: Offences Under SLL:						
1	Copyright Act, 1957	4	0	4	0	0	0
1.1	Under Section 63	4	0	4	0	0	0
1.2	Under Section 68A	0	0	0	0	0	0
1.3	Others	0	0	0	0	0	0
2	Trade Marks Act, 1999	0	0	0	0	0	0
2.1	Under Section 102	0	0	0	0	0	0
2.2	Under Section 103	0	0	0	0	0	0
2.3	Under Section 104	0	0	0	0	0	0
2.4	Others	0	0	0	0	0	0
3	Other SLL Offences	3	0	3	1	0	1
	Total Offences under SLL	**7**	**0**	**7**	**1**	**0**	**1**

तक्ता क्र. ९२ (अ) (चालू)

Table - 92 (A) (Continued)

Sr.No	Crime Head	60 years and above			Total of overall age group		
		Male	Female	Total	Male	Female	Total
1	2	15	16	17	18	19	20
	Part - A: Offences Under I.T Act:						
1	IT - Tampering computer source documents	0	0	0	0	0	0
2	IT - Computer related offences	0	0	0	199	4	203
2.1	Computer related offences-Under Section 66A	0	0	0	144	2	146
2.2	Computer related offences-Under Section 66B	0	0	0	8	1	9
2.3	Computer related offences-Under Section 66C	0	0	0	23	1	24
2.4	Computer related offences-Under Section 66D	0	0	0	22	0	22
2.5	Computer related offences-Under Section 66E	0	0	0	2	0	2
3	IT - Cyber terrorism	0	0	0	0	0	0
4	IT - Publication/transmission of obscene/sexually explicit content	0	0	0	21	0	21
4.1	Under section 67A	0	0	0	20	0	20
4.2	Under section 67B	0	0	0	1	0	1
4.3	Under Section 67C	0	0	0	0	0	0
5	IT - Intentionally not complying with the order of Controller	0	0	0	0	0	0
6	IT - Failure to provide or monitor or intercept or decrypt information	0	0	0	0	0	0
7	IT - Failure to block access any information hosted etc	0	0	0	0	0	0
8	IT - Not providing technical assistance to Govt. to enable online access	0	0	0	0	0	0
9	IT - Un-authorized access/attempt to access to protected computer system	0	0	0	0	0	0
10	IT - Misrepresentation/suppression of fact for obtaining license etc	0	0	0	0	0	0
11	IT - Breach of confidentiality/privacy	0	0	0	1	0	1
12	IT - Disclosure of information in breach of lawful contract	0	0	0	0	0	0
13	IT - Publishing /making available false elect. Signature Certificate	0	0	0	0	0	0
14	IT - Create/publish/make available Elec. Signature Certificate for unlawful purpose	0	0	0	1	0	1
15	IT - Others	0	0	0	10	0	10
	Total Offences under IT Act	**0**	**0**	**0**	**232**	**4**	**236**
	Part - B: Offences Under Ipc:						
1	IPC - Offences by Public Servant	0	0	0	0	0	0
2	IPC - Fabrication/Destruction of electronic records for evidence	0	0	0	0	0	0
3	IPC - Cheating	0	0	0	235	3	238
4	IPC - Forgery	0	0	0	10	0	10
5	IPC - Data theft	0	0	0	7	3	10
6	IPC - Criminal Breach of Trust/Fraud	0	0	0	12	0	12
6.1	IPC - Credit / Debit Card	0	0	0	4	0	4
6.2	IPC - Others	0	0	0	8	0	8
7	IPC - Counterfeiting	0	0	0	0	0	0
7.1	IPC - Currency	0	0	0	0	0	0
7.2	IPC - Stamps	0	0	0	0	0	0
8	IPC - Others	1	0	1	300	10	310
	Total Offences under IPC	**1**	**0**	**1**	**564**	**16**	**580**
	Part - C: Offences Under SLL:						
1	Copyright Act, 1957	0	0	0	4	0	4
1.1	Under Section 63	0	0	0	4	0	4
1.2	Under Section 68A	0	0	0	0	0	0
1.3	Others	0	0	0	0	0	0
2	Trade Marks Act, 1999	0	0	0	0	0	0
2.1	Under Section 102	0	0	0	0	0	0
2.2	Under Section 103	0	0	0	0	0	0
2.3	Under Section 104	0	0	0	0	0	0
2.4	Others	0	0	0	0	0	0
3	Other SLL Offences	0	0	0	5	0	5
	Total Offences under SLL	**0**	**0**	**0**	**9**	**0**	**9**

तक्ता क्र. ९२ (ब)

सन २०१५ मधील माहिती व तंत्रज्ञान कायदा २००० अंतर्गत विविध गुन्हे शिषर्काखाली दखलपात्र गुन्हयांमधे अटक आरोपीतांची लिंगनिहाय माहिती

Table - 92 (B)

Sex-wise Persons Arrested under Cognizable Crimes of Different Crime Heads of IT Act During 2015

S.No.	Unit	Tampering computer source documents (Section 65)			Computer related offences (Section 66 and Section 66 A to E) Total		
		Male	Female	Total	Male	Female	Total
1	2	3	4	5	6	7	8
1	Akola	0	0	0	2	0	2
2	Amravati Rural	0	0	0	7	0	7
3	Buldhana	0	0	0	0	0	0
4	Yavatmal	0	0	0	9	0	9
5	Washim	0	0	0	0	0	0
	Amravati Range	**0**	**0**	**0**	**18**	**0**	**18**
6	Aurangabad Rural	0	0	0	0	0	0
7	Jalna	0	0	0	4	0	4
8	Beed	0	0	0	0	0	0
9	Osmanabad	0	0	0	0	0	0
	Aurangabad Range	**0**	**0**	**0**	**4**	**0**	**4**
10	Nanded	0	0	0	7	0	7
11	Latur	0	0	0	0	0	0
12	Parbhani	0	0	0	3	0	3
13	Hingoli	0	0	0	0	0	0
	Nanded Range	**0**	**0**	**0**	**10**	**0**	**10**
14	Kolhapur	0	0	0	0	0	0
15	Pune Rural	0	0	0	1	0	1
16	Sangli	0	0	0	1	0	1
17	Satara	0	0	0	2	0	2
18	Solapur Rural	0	0	0	4	0	4
	Kolhapur Range	**0**	**0**	**0**	**8**	**0**	**8**
19	Bhandara	0	0	0	5	0	5
20	Chandrapur	0	0	0	2	0	2
21	Nagpur Rural	0	0	0	0	0	0
22	Wardha	0	0	0	0	0	0
	Nagpur Range	**0**	**0**	**0**	**7**	**0**	**7**
23	Gadchiroli	0	0	0	0	0	0
24	Gondia	0	0	0	1	0	1
	Gadchiroli Range	**0**	**0**	**0**	**1**	**0**	**1**
25	Ahmednagar	0	0	0	7	0	7
26	Dhule	0	0	0	0	0	0
27	Jalgaon	0	0	0	5	0	5
28	Nasik Rural	0	0	0	2	0	2
29	Nandurbar	0	0	0	0	0	0
	Nasik Range	**0**	**0**	**0**	**14**	**0**	**14**
30	Raigad	0	0	0	0	0	0
31	Ratnagiri	0	0	0	1	0	1
32	Sindhudurg	0	0	0	0	0	0
33	Thane Rural	0	0	0	1	0	1
34	Palghar	0	0	0	2	0	2
	Thane Range	**0**	**0**	**0**	**4**	**0**	**4**
35	Mumbai Railway	0	0	0	0	0	0
36	Pune Railway	0	0	0	0	0	0
37	Nagpur Railway	0	0	0	0	0	0
	Railway Range	**0**	**0**	**0**	**0**	**0**	**0**
38	Nagpur Commr.	0	0	0	4	0	4
39	Pune Commr.	0	0	0	1	0	1
40	Thane Commr.	0	0	0	75	1	76
41	Mumbai Commr.	0	0	0	5	0	5
42	Nasik Commr.	0	0	0	5	1	6
43	Aurangabad Commr.	0	0	0	13	0	13
44	Solapur Commr.	0	0	0	19	0	19
45	Navi Mumbai	0	0	0	6	2	8
46	Amravati Commr.	0	0	0	5	0	5
	Total Commrs.	**0**	**0**	**0**	**133**	**4**	**137**
	Total	**0**	**0**	**0**	**199**	**4**	**203**

तक्ता क्र. ९२ (ब) चालू)

Table - 92 (B) (Continued)

Sr.No.	Unit	Computer related offences (Section 66 and Section 66 A to E)					
		Under Section 66A			Under Section 66B		
		Male	Female	Total	Male	Female	Total
1	2	9	10	11	12	13	14
1	Akola	2	0	2	0	0	0
2	Amravati Rural	7	0	7	0	0	0
3	Buldhana	0	0	0	0	0	0
4	Yavatmal	9	0	9	0	0	0
5	Washim	0	0	0	0	0	0
	Amravati Range	**18**	**0**	**18**	**0**	**0**	**0**
6	Aurangabad Rural	0	0	0	0	0	0
7	Jalna	4	0	4	0	0	0
8	Beed	0	0	0	0	0	0
9	Osmanabad	0	0	0	0	0	0
	Aurangabad Range	**4**	**0**	**4**	**0**	**0**	**0**
10	Nanded	7	0	7	0	0	0
11	Latur	0	0	0	0	0	0
12	Parbhani	3	0	3	0	0	0
13	Hingoli	0	0	0	0	0	0
	Nanded Range	**10**	**0**	**10**	**0**	**0**	**0**
14	Kolhapur	0	0	0	0	0	0
15	Pune Rural	0	0	0	0	0	0
16	Sangli	1	0	1	0	0	0
17	Satara	2	0	2	0	0	0
18	Solapur Rural	4	0	4	0	0	0
	Kolhapur Range	**7**	**0**	**7**	**0**	**0**	**0**
19	Bhandara	4	0	4	0	0	0
20	Chandrapur	2	0	2	0	0	0
21	Nagpur Rural	0	0	0	0	0	0
22	Wardha	0	0	0	0	0	0
	Nagpur Range	**6**	**0**	**6**	**0**	**0**	**0**
23	Gadchiroli	0	0	0	0	0	0
24	Gondia	1	0	1	0	0	0
	Gadchiroli Range	**1**	**0**	**1**	**0**	**0**	**0**
25	Ahmednagar	0	0	0	1	0	1
26	Dhule	0	0	0	0	0	0
27	Jalgaon	5	0	5	0	0	0
28	Nasik Rural	1	0	1	1	0	1
29	Nandurbar	0	0	0	0	0	0
	Nasik Range	**6**	**0**	**6**	**2**	**0**	**2**
30	Raigad	0	0	0	0	0	0
31	Ratnagiri	1	0	1	0	0	0
32	Sindhudurg	0	0	0	0	0	0
33	Thane Rural	1	0	1	0	0	0
34	Palghar	1	0	1	1	0	1
	Thane Range	**3**	**0**	**3**	**1**	**0**	**1**
35	Mumbai Railway	0	0	0	0	0	0
36	Pune Railway	0	0	0	0	0	0
37	Nagpur Railway	0	0	0	0	0	0
	Railway Range	**0**	**0**	**0**	**0**	**0**	**0**
38	Nagpur Commr.	2	0	2	0	0	0
39	Pune Commr.	0	0	0	0	0	0
40	Thane Commr.	44	0	44	4	0	4
41	Mumbai Commr.	3	0	3	0	0	0
42	Nasik Commr.	5	1	6	0	0	0
43	Aurangabad Commr.	8	0	8	0	0	0
44	Solapur Commr.	19	0	19	0	0	0
45	Navi Mumbai	3	1	4	1	1	2
46	Amravati Commr.	5	0	5	0	0	0
	Total Commrs.	**89**	**2**	**91**	**5**	**1**	**6**
	Total	**144**	**2**	**146**	**8**	**1**	**9**

तक्ता क्र. ९२ (ब) चालू)

Table - 92 (B) (Continued)

Sr.No.	Unit	Computer related offences (Section 66 and Section 66 A to E)					
		Under Section 66C			Under Section 66D		
		Male	Female	Total	Male	Female	Total
1	2	15	16	17	18	19	20
1	Akola	0	0	0	0	0	0
2	Amravati Rural	0	0	0	0	0	0
3	Buldhana	0	0	0	0	0	0
4	Yavatmal	0	0	0	0	0	0
5	Washim	0	0	0	0	0	0
*	**Amravati Range**	**0**	**0**	**0**	**0**	**0**	**0**
6	Aurangabad Rural	0	0	0	0	0	0
7	Jalna	0	0	0	0	0	0
8	Beed	0	0	0	0	0	0
9	Osmanabad	0	0	0	0	0	0
*	**Aurangabad Range**	**0**	**0**	**0**	**0**	**0**	**0**
10	Nanded	0	0	0	0	0	0
11	Latur	0	0	0	0	0	0
12	Parbhani	0	0	0	0	0	0
13	Hingoli	0	0	0	0	0	0
*	**Nanded Range**	**0**	**0**	**0**	**0**	**0**	**0**
14	Kolhapur	0	0	0	0	0	0
15	Pune Rural	1	0	1	0	0	0
16	Sangli	0	0	0	0	0	0
17	Satara	0	0	0	0	0	0
18	Solapur Rural	0	0	0	0	0	0
*	**Kolhapur Range**	**1**	**0**	**1**	**0**	**0**	**0**
19	Bhandara	0	0	0	0	0	0
20	Chandrapur	0	0	0	0	0	0
21	Nagpur Rural	0	0	0	0	0	0
22	Wardha	0	0	0	0	0	0
*	**Nagpur Range**	**0**	**0**	**0**	**0**	**0**	**0**
23	Gadchiroli	0	0	0	0	0	0
24	Gondia	0	0	0	0	0	0
*	**Gadchiroli Range**	**0**	**0**	**0**	**0**	**0**	**0**
25	Ahmednagar	3	0	3	3	0	3
26	Dhule	0	0	0	0	0	0
27	Jalgaon	0	0	0	0	0	0
28	Nasik Rural	0	0	0	0	0	0
29	Nandurbar	0	0	0	0	0	0
*	**Nasik Range**	**3**	**0**	**3**	**3**	**0**	**3**
30	Raigad	0	0	0	0	0	0
31	Ratnagiri	0	0	0	0	0	0
32	Sindhudurg	0	0	0	0	0	0
33	Thane Rural	0	0	0	0	0	0
34	Palghar	0	0	0	0	0	0
*	**Thane Range**	**0**	**0**	**0**	**0**	**0**	**0**
35	Mumbai Railway	0	0	0	0	0	0
36	Pune Railway	0	0	0	0	0	0
37	Nagpur Railway	0	0	0	0	0	0
*	**Railway Range**	**0**	**0**	**0**	**0**	**0**	**0**
38	Nagpur Commr.	2	0	2	0	0	0
39	Pune Commr.	1	0	1	0	0	0
40	Thane Commr.	10	1	11	16	0	16
41	Mumbai Commr.	1	0	1	1	0	1
42	Nasik Commr.	0	0	0	0	0	0
43	Aurangabad Commr.	5	0	5	0	0	0
44	Solapur Commr.	0	0	0	0	0	0
45	Navi Mumbai	0	0	0	2	0	2
46	Amravati Commr.	0	0	0	0	0	0
*	**Total Commrs.**	**19**	**1**	**20**	**19**	**0**	**19**
**	**Total**	**23**	**1**	**24**	**22**	**0**	**22**

तक्ता क्र. ९२ (ब) (चालू)

Table - 92 (B) (Continued)

Sr.No.	Unit	Computer related offences (Section 66 and Section 66 A to E)			Cyber terrorism (Section 66 F)		
		Under Section 66E					
		Male	Female	Total	Male	Female	Total
1	2	21	22	23	24	25	26
1	Akola	0	0	0	0	0	0
2	Amravati Rural	0	0	0	0	0	0
3	Buldhana	0	0	0	0	0	0
4	Yavatmal	0	0	0	0	0	0
5	Washim	0	0	0	0	0	0
*	**Amravati Range**	**0**	**0**	**0**	**0**	**0**	**0**
6	Aurangabad Rural	0	0	0	0	0	0
7	Jalna	0	0	0	0	0	0
8	Beed	0	0	0	0	0	0
9	Osmanabad	0	0	0	0	0	0
*	**Aurangabad Range**	**0**	**0**	**0**	**0**	**0**	**0**
10	Nanded	0	0	0	0	0	0
11	Latur	0	0	0	0	0	0
12	Parbhani	0	0	0	0	0	0
13	Hingoli	0	0	0	0	0	0
*	**Nanded Range**	**0**	**0**	**0**	**0**	**0**	**0**
14	Kolhapur	0	0	0	0	0	0
15	Pune Rural	0	0	0	0	0	0
16	Sangli	0	0	0	0	0	0
17	Satara	0	0	0	0	0	0
18	Solapur Rural	0	0	0	0	0	0
*	**Kolhapur Range**	**0**	**0**	**0**	**0**	**0**	**0**
19	Bhandara	1	0	1	0	0	0
20	Chandrapur	0	0	0	0	0	0
21	Nagpur Rural	0	0	0	0	0	0
22	Wardha	0	0	0	0	0	0
*	**Nagpur Range**	**1**	**0**	**1**	**0**	**0**	**0**
23	Gadchiroli	0	0	0	0	0	0
24	Gondia	0	0	0	0	0	0
*	**Gadchiroli Range**	**0**	**0**	**0**	**0**	**0**	**0**
25	Ahmednagar	0	0	0	0	0	0
26	Dhule	0	0	0	0	0	0
27	Jalgaon	0	0	0	0	0	0
28	Nasik Rural	0	0	0	0	0	0
29	Nandurbar	0	0	0	0	0	0
*	**Nasik Range**	**0**	**0**	**0**	**0**	**0**	**0**
30	Raigad	0	0	0	0	0	0
31	Ratnagiri	0	0	0	0	0	0
32	Sindhudurg	0	0	0	0	0	0
33	Thane Rural	0	0	0	0	0	0
34	Palghar	0	0	0	0	0	0
*	**Thane Range**	**0**	**0**	**0**	**0**	**0**	**0**
35	Mumbai Railway	0	0	0	0	0	0
36	Pune Railway	0	0	0	0	0	0
37	Nagpur Railway	0	0	0	0	0	0
*	**Railway Range**	**0**	**0**	**0**	**0**	**0**	**0**
38	Nagpur Commr.	0	0	0	0	0	0
39	Pune Commr.	0	0	0	0	0	0
40	Thane Commr.	1	0	1	0	0	0
41	Mumbai Commr.	0	0	0	0	0	0
42	Nasik Commr.	0	0	0	0	0	0
43	Aurangabad Commr.	0	0	0	0	0	0
44	Solapur Commr.	0	0	0	0	0	0
45	Navi Mumbai	0	0	0	0	0	0
46	Amravati Commr.	0	0	0	0	0	0
*	**Total Commrs.**	**1**	**0**	**1**	**0**	**0**	**0**
*	**Total**	**2**	**0**	**2**	**0**	**0**	**0**

तक्ता क्र. ९२ (ब) (चालू)

Table - 92 (B) (Continued)

Sr.No.	Unit	Publication/transmission of obscene / sexually explicit act, etc in electronic form (Section 67 and Section 67 A to C)					
		Publication/transmission of obscene / sexually explicit act, etc in electronic form (Total)			Under Section 67A		
		Male	Female	Total	Male	Female	Total
1	2	27	28	29	30	31	32
1	Akola	3	0	3	3	0	3
2	Amravati Rural	0	0	0	0	0	0
3	Buldhana	1	0	1	1	0	1
4	Yavatmal	0	0	0	0	0	0
5	Washim	0	0	0	0	0	0
	Amravati Range	**4**	**0**	**4**	**4**	**0**	**4**
6	Aurangabad Rural	0	0	0	0	0	0
7	Jalna	3	0	3	2	0	2
8	Beed	0	0	0	0	0	0
9	Osmanabad	0	0	0	0	0	0
	Aurangabad Range	**3**	**0**	**3**	**2**	**0**	**2**
10	Nanded	0	0	0	0	0	0
11	Latur	0	0	0	0	0	0
12	Parbhani	0	0	0	0	0	0
13	Hingoli	0	0	0	0	0	0
	Nanded Range	**0**	**0**	**0**	**0**	**0**	**0**
14	Kolhapur	0	0	0	0	0	0
15	Pune Rural	0	0	0	0	0	0
16	Sangli	0	0	0	0	0	0
17	Satara	0	0	0	0	0	0
18	Solapur Rural	0	0	0	0	0	0
	Kolhapur Range	**0**	**0**	**0**	**0**	**0**	**0**
19	Bhandara	0	0	0	0	0	0
20	Chandrapur	0	0	0	0	0	0
21	Nagpur Rural	0	0	0	0	0	0
22	Wardha	0	0	0	0	0	0
	Nagpur Range	**0**	**0**	**0**	**0**	**0**	**0**
23	Gadchiroli	0	0	0	0	0	0
24	Gondia	0	0	0	0	0	0
	Gadchiroli Range	**0**	**0**	**0**	**0**	**0**	**0**
25	Ahmednagar	0	0	0	0	0	0
26	Dhule	0	0	0	0	0	0
27	Jalgaon	9	0	9	9	0	9
28	Nasik Rural	1	0	1	1	0	1
29	Nandurbar	0	0	0	0	0	0
	Nasik Range	**10**	**0**	**10**	**10**	**0**	**10**
30	Raigad	0	0	0	0	0	0
31	Ratnagiri	0	0	0	0	0	0
32	Sindhudurg	0	0	0	0	0	0
33	Thane Rural	0	0	0	0	0	0
34	Palghar	2	0	2	2	0	2
	Thane Range	**2**	**0**	**2**	**2**	**0**	**2**
35	Mumbai Railway	0	0	0	0	0	0
36	Pune Railway	0	0	0	0	0	0
37	Nagpur Railway	0	0	0	0	0	0
	Railway Range	**0**	**0**	**0**	**0**	**0**	**0**
38	Nagpur Commr.	0	0	0	0	0	0
39	Pune Commr.	0	0	0	0	0	0
40	Thane Commr.	1	0	1	1	0	1
41	Mumbai Commr.	0	0	0	0	0	0
42	Nasik Commr.	0	0	0	0	0	0
43	Aurangabad Commr.	0	0	0	0	0	0
44	Solapur Commr.	0	0	0	1	0	1
45	Navi Mumbai	1	0	1	0	0	0
46	Amravati Commr.	0	0	0	0	0	0
	Total Commrs.	**2**	**0**	**2**	**2**	**0**	**2**
	Total	**21**	**0**	**21**	**20**	**0**	**20**

तक्ता क्र. ९२ (ब) (चालू)

Table - 92 (B) (Continued)

Sr.No.	Unit	Publication/transmission of obscene / sexually explicit act, etc in electronic form (Section 67 and Section 67 A to C)					
		Under Section 67B			Under Section 67C		
		Male	Female	Total	Male	Female	Total
1	2	33	34	35	36	37	38
1	Akola	0	0	0	0	0	0
2	Amravati Rural	0	0	0	0	0	0
3	Buldhana	0	0	0	0	0	0
4	Yavatmal	0	0	0	0	0	0
5	Washim	0	0	0	0	0	0
	Amravati Range	**0**	**0**	**0**	**0**	**0**	**0**
6	Aurangabad Rural	0	0	0	0	0	0
7	Jalna	1	0	1	0	0	0
8	Beed	0	0	0	0	0	0
9	Osmanabad	0	0	0	0	0	0
	Aurangabad Range	**1**	**0**	**1**	**0**	**0**	**0**
10	Nanded	0	0	0	0	0	0
11	Latur	0	0	0	0	0	0
12	Parbhani	0	0	0	0	0	0
13	Hingoli	0	0	0	0	0	0
	Nanded Range	**0**	**0**	**0**	**0**	**0**	**0**
14	Kolhapur	0	0	0	0	0	0
15	Pune Rural	0	0	0	0	0	0
16	Sangli	0	0	0	0	0	0
17	Satara	0	0	0	0	0	0
18	Solapur Rural	0	0	0	0	0	0
	Kolhapur Range	**0**	**0**	**0**	**0**	**0**	**0**
19	Bhandara	0	0	0	0	0	0
20	Chandrapur	0	0	0	0	0	0
21	Nagpur Rural	0	0	0	0	0	0
22	Wardha	0	0	0	0	0	0
	Nagpur Range	**0**	**0**	**0**	**0**	**0**	**0**
23	Gadchiroli	0	0	0	0	0	0
24	Gondia	0	0	0	0	0	0
	Gadchiroli Range	**0**	**0**	**0**	**0**	**0**	**0**
25	Ahmednagar	0	0	0	0	0	0
26	Dhule	0	0	0	0	0	0
27	Jalgaon	0	0	0	0	0	0
28	Nasik Rural	0	0	0	0	0	0
29	Nandurbar	0	0	0	0	0	0
	Nasik Range	**0**	**0**	**0**	**0**	**0**	**0**
30	Raigad	0	0	0	0	0	0
31	Ratnagiri	0	0	0	0	0	0
32	Sindhudurg	0	0	0	0	0	0
33	Thane Rural	0	0	0	0	0	0
34	Palghar	0	0	0	0	0	0
	Thane Range	**0**	**0**	**0**	**0**	**0**	**0**
35	Mumbai Railway	0	0	0	0	0	0
36	Pune Railway	0	0	0	0	0	0
37	Nagpur Railway	0	0	0	0	0	0
	Railway Range	**0**	**0**	**0**	**0**	**0**	**0**
38	Nagpur Commr.	0	0	0	0	0	0
39	Pune Commr.	0	0	0	0	0	0
40	Thane Commr.	0	0	0	0	0	0
41	Mumbai Commr.	0	0	0	0	0	0
42	Nasik Commr.	0	0	0	0	0	0
43	Aurangabad Commr.	0	0	0	0	0	0
44	Solapur Commr.	0	0	0	0	0	0
45	Navi Mumbai	0	0	0	0	0	0
46	Amravati Commr.	0	0	0	0	0	0
	Total Commrs.	**0**	**0**	**0**	**0**	**0**	**0**
	Total	**1**	**0**	**1**	**0**	**0**	**0**

तक्ता क्र. ९२ (ब) (चालू)

Table - 92 (B) (Continued)

Sr.No.	Unit	Intentionally or knowingly not complying with the order of Controller (Section 68)			Failure to provide information stored in computer resource failure to provide access to intercept or monitor or decrypt the information (Section 69)		
		Male	Female	Total	Male	Female	Total
1	2	39	40	41	42	43	44
1	Akola	0	0	0	0	0	0
2	Amravati Rural	0	0	0	0	0	0
3	Buldhana	0	0	0	0	0	0
4	Yavatmal	0	0	0	0	0	0
5	Washim	0	0	0	0	0	0
	Amravati Range	**0**	**0**	**0**	**0**	**0**	**0**
6	Aurangabad Rural	0	0	0	0	0	0
7	Jalna	0	0	0	0	0	0
8	Beed	0	0	0	0	0	0
9	Osmanabad	0	0	0	0	0	0
	Aurangabad Range	**0**	**0**	**0**	**0**	**0**	**0**
10	Nanded	0	0	0	0	0	0
11	Latur	0	0	0	0	0	0
12	Parbhani	0	0	0	0	0	0
13	Hingoli	0	0	0	0	0	0
	Nanded Range	**0**	**0**	**0**	**0**	**0**	**0**
14	Kolhapur	0	0	0	0	0	0
15	Pune Rural	0	0	0	0	0	0
16	Sangli	0	0	0	0	0	0
17	Satara	0	0	0	0	0	0
18	Solapur Rural	0	0	0	0	0	0
	Kolhapur Range	**0**	**0**	**0**	**0**	**0**	**0**
19	Bhandara	0	0	0	0	0	0
20	Chandrapur	0	0	0	0	0	0
21	Nagpur Rural	0	0	0	0	0	0
22	Wardha	0	0	0	0	0	0
	Nagpur Range	**0**	**0**	**0**	**0**	**0**	**0**
23	Gadchiroli	0	0	0	0	0	0
24	Gondia	0	0	0	0	0	0
	Gadchiroli Range	**0**	**0**	**0**	**0**	**0**	**0**
25	Ahmednagar	0	0	0	0	0	0
26	Dhule	0	0	0	0	0	0
27	Jalgaon	0	0	0	0	0	0
28	Nasik Rural	0	0	0	0	0	0
29	Nandurbar	0	0	0	0	0	0
	Nasik Range	**0**	**0**	**0**	**0**	**0**	**0**
30	Raigad	0	0	0	0	0	0
31	Ratnagiri	0	0	0	0	0	0
32	Sindhudurg	0	0	0	0	0	0
33	Thane Rural	0	0	0	0	0	0
34	Palghar	0	0	0	0	0	0
	Thane Range	**0**	**0**	**0**	**0**	**0**	**0**
35	Mumbai Railway	0	0	0	0	0	0
36	Pune Railway	0	0	0	0	0	0
37	Nagpur Railway	0	0	0	0	0	0
	Railway Range	**0**	**0**	**0**	**0**	**0**	**0**
38	Nagpur Commr.	0	0	0	0	0	0
39	Pune Commr.	0	0	0	0	0	0
40	Thane Commr.	0	0	0	0	0	0
41	Mumbai Commr.	0	0	0	0	0	0
42	Nasik Commr.	0	0	0	0	0	0
43	Aurangabad Commr.	0	0	0	0	0	0
44	Solapur Commr.	0	0	0	0	0	0
45	Navi Mumbai	0	0	0	0	0	0
46	Amravati Commr.	0	0	0	0	0	0
	Total Commrs.	**0**	**0**	**0**	**0**	**0**	**0**
	Total	**0**	**0**	**0**	**0**	**0**	**0**

तक्ता क्र. ९२ (ब) (चालू)

Table - 92 (B) (Continued)

Sr.No.	Unit	Failure to block access by the public or cause to be blocked for access by public any information generated, transmitted, received, stored or hosted in any computer resource (Section 69 A)			Intermediary or any person in-charge of computer resource not providing technical assistance to any agency authorized by Govt. to enable online access to computer resource (Section 69 B)		
		Male	Female	Total	Male	Female	Total
1	2	45	46	47	48	49	50
1	Akola	0	0	0	0	0	0
2	Amravati Rural	0	0	0	0	0	0
3	Buldhana	0	0	0	0	0	0
4	Yavatmal	0	0	0	0	0	0
5	Washim	0	0	0	0	0	0
	Amravati Range	**0**	**0**	**0**	**0**	**0**	**0**
6	Aurangabad Rural	0	0	0	0	0	0
7	Jalna	0	0	0	0	0	0
8	Beed	0	0	0	0	0	0
9	Osmanabad	0	0	0	0	0	0
	Aurangabad Range	**0**	**0**	**0**	**0**	**0**	**0**
10	Nanded	0	0	0	0	0	0
11	Latur	0	0	0	0	0	0
12	Parbhani	0	0	0	0	0	0
13	Hingoli	0	0	0	0	0	0
	Nanded Range	**0**	**0**	**0**	**0**	**0**	**0**
14	Kolhapur	0	0	0	0	0	0
15	Pune Rural	0	0	0	0	0	0
16	Sangli	0	0	0	0	0	0
17	Satara	0	0	0	0	0	0
18	Solapur Rural	0	0	0	0	0	0
	Kolhapur Range	**0**	**0**	**0**	**0**	**0**	**0**
19	Bhandara	0	0	0	0	0	0
20	Chandrapur	0	0	0	0	0	0
21	Nagpur Rural	0	0	0	0	0	0
22	Wardha	0	0	0	0	0	0
	Nagpur Range	**0**	**0**	**0**	**0**	**0**	**0**
23	Gadchiroli	0	0	0	0	0	0
24	Gondia	0	0	0	0	0	0
	Gadchiroli Range	**0**	**0**	**0**	**0**	**0**	**0**
25	Ahmednagar	0	0	0	0	0	0
26	Dhule	0	0	0	0	0	0
27	Jalgaon	0	0	0	0	0	0
28	Nasik Rural	0	0	0	0	0	0
29	Nandurbar	0	0	0	0	0	0
	Nasik Range	**0**	**0**	**0**	**0**	**0**	**0**
30	Raigad	0	0	0	0	0	0
31	Ratnagiri	0	0	0	0	0	0
32	Sindhudurg	0	0	0	0	0	0
33	Thane Rural	0	0	0	0	0	0
34	Palghar	0	0	0	0	0	0
	Thane Range	**0**	**0**	**0**	**0**	**0**	**0**
35	Mumbai Railway	0	0	0	0	0	0
36	Pune Railway	0	0	0	0	0	0
37	Nagpur Railway	0	0	0	0	0	0
	Railway Range	**0**	**0**	**0**	**0**	**0**	**0**
38	Nagpur Commr.	0	0	0	0	0	0
39	Pune Commr.	0	0	0	0	0	0
40	Thane Commr.	0	0	0	0	0	0
41	Mumbai Commr.	0	0	0	0	0	0
42	Nasik Commr.	0	0	0	0	0	0
43	Aurangabad Commr.	0	0	0	0	0	0
44	Solapur Commr.	0	0	0	0	0	0
45	Navi Mumbai	0	0	0	0	0	0
46	Amravati Commr.	0	0	0	0	0	0
	Total Commrs.	**0**	**0**	**0**	**0**	**0**	**0**
	Total	**0**	**0**	**0**	**0**	**0**	**0**

तक्ता क्र. ९२ (ब) (चालू)

Table - 92 (B) (Continued)

Sr.No.	Unit	Un-authorized access/attempt to access to protected computer system (Section 70)			Misrepresentation/suppression of fact for obtaining license or Electronic Signature Certificate (Section 71)		
		Male	Female	Total	Male	Female	Total
1	2	51	52	53	54	55	56
1	Akola	0	0	0	0	0	0
2	Amravati Rural	0	0	0	0	0	0
3	Buldhana	0	0	0	0	0	0
4	Yavatmal	0	0	0	0	0	0
5	Washim	0	0	0	0	0	0
	Amravati Range	**0**	**0**	**0**	**0**	**0**	**0**
6	Aurangabad Rural	0	0	0	0	0	0
7	Jalna	0	0	0	0	0	0
8	Beed	0	0	0	0	0	0
9	Osmanabad	0	0	0	0	0	0
	Aurangabad Range	**0**	**0**	**0**	**0**	**0**	**0**
10	Nanded	0	0	0	0	0	0
11	Latur	0	0	0	0	0	0
12	Parbhani	0	0	0	0	0	0
13	Hingoli	0	0	0	0	0	0
	Nanded Range	**0**	**0**	**0**	**0**	**0**	**0**
14	Kolhapur	0	0	0	0	0	0
15	Pune Rural	0	0	0	0	0	0
16	Sangli	0	0	0	0	0	0
17	Satara	0	0	0	0	0	0
18	Solapur Rural	0	0	0	0	0	0
	Kolhapur Range	**0**	**0**	**0**	**0**	**0**	**0**
19	Bhandara	0	0	0	0	0	0
20	Chandrapur	0	0	0	0	0	0
21	Nagpur Rural	0	0	0	0	0	0
22	Wardha	0	0	0	0	0	0
	Nagpur Range	**0**	**0**	**0**	**0**	**0**	**0**
23	Gadchiroli	0	0	0	0	0	0
24	Gondia	0	0	0	0	0	0
	Gadchiroli Range	**0**	**0**	**0**	**0**	**0**	**0**
25	Ahmednagar	0	0	0	0	0	0
26	Dhule	0	0	0	0	0	0
27	Jalgaon	0	0	0	0	0	0
28	Nasik Rural	0	0	0	0	0	0
29	Nandurbar	0	0	0	0	0	0
	Nasik Range	**0**	**0**	**0**	**0**	**0**	**0**
30	Raigad	0	0	0	0	0	0
31	Ratnagiri	0	0	0	0	0	0
32	Sindhudurg	0	0	0	0	0	0
33	Thane Rural	0	0	0	0	0	0
34	Palghar	0	0	0	0	0	0
	Thane Range	**0**	**0**	**0**	**0**	**0**	**0**
35	Mumbai Railway	0	0	0	0	0	0
36	Pune Railway	0	0	0	0	0	0
37	Nagpur Railway	0	0	0	0	0	0
	Railway Range	**0**	**0**	**0**	**0**	**0**	**0**
38	Nagpur Commr.	0	0	0	0	0	0
39	Pune Commr.	0	0	0	0	0	0
40	Thane Commr.	0	0	0	0	0	0
41	Mumbai Commr.	0	0	0	0	0	0
42	Nasik Commr.	0	0	0	0	0	0
43	Aurangabad Commr.	0	0	0	0	0	0
44	Solapur Commr.	0	0	0	0	0	0
45	Navi Mumbai	0	0	0	0	0	0
46	Amravati Commr.	0	0	0	0	0	0
	Total Commrs.	**0**	**0**	**0**	**0**	**0**	**0**
	Total	**0**	**0**	**0**	**0**	**0**	**0**

तक्ता क्र. ९२ (ब) (चालू)

Table - 92 (B) (Continued)

Sr.No.	Unit	Breach of confidentiality/privacy (Section 72)			Disclosure of information in breach of lawful contract (Section 72 A)		
		Male	Female	Total	Male	Female	Total
1	2	57	58	59	60	61	62
1	Akola	0	0	0	0	0	0
2	Amravati Rural	0	0	0	0	0	0
3	Buldhana	0	0	0	0	0	0
4	Yavatmal	0	0	0	0	0	0
5	Washim	0	0	0	0	0	0
	Amravati Range	**0**	**0**	**0**	**0**	**0**	**0**
6	Aurangabad Rural	0	0	0	0	0	0
7	Jalna	0	0	0	0	0	0
8	Beed	0	0	0	0	0	0
9	Osmanabad	0	0	0	0	0	0
	Aurangabad Range	**0**	**0**	**0**	**0**	**0**	**0**
10	Nanded	0	0	0	0	0	0
11	Latur	0	0	0	0	0	0
12	Parbhani	0	0	0	0	0	0
13	Hingoli	0	0	0	0	0	0
	Nanded Range	**0**	**0**	**0**	**0**	**0**	**0**
14	Kolhapur	0	0	0	0	0	0
15	Pune Rural	0	0	0	0	0	0
16	Sangli	0	0	0	0	0	0
17	Satara	0	0	0	0	0	0
18	Solapur Rural	0	0	0	0	0	0
	Kolhapur Range	**0**	**0**	**0**	**0**	**0**	**0**
19	Bhandara	0	0	0	0	0	0
20	Chandrapur	0	0	0	0	0	0
21	Nagpur Rural	0	0	0	0	0	0
22	Wardha	0	0	0	0	0	0
	Nagpur Range	**0**	**0**	**0**	**0**	**0**	**0**
23	Gadchiroli	0	0	0	0	0	0
24	Gondia	0	0	0	0	0	0
	Gadchiroli Range	**0**	**0**	**0**	**0**	**0**	**0**
25	Ahmednagar	0	0	0	0	0	0
26	Dhule	0	0	0	0	0	0
27	Jalgaon	0	0	0	0	0	0
28	Nasik Rural	0	0	0	0	0	0
29	Nandurbar	0	0	0	0	0	0
	Nasik Range	**0**	**0**	**0**	**0**	**0**	**0**
30	Raigad	0	0	0	0	0	0
31	Ratnagiri	0	0	0	0	0	0
32	Sindhudurg	0	0	0	0	0	0
33	Thane Rural	0	0	0	0	0	0
34	Palghar	0	0	0	0	0	0
	Thane Range	**0**	**0**	**0**	**0**	**0**	**0**
35	Mumbai Railway	0	0	0	0	0	0
36	Pune Railway	0	0	0	0	0	0
37	Nagpur Railway	0	0	0	0	0	0
	Railway Range	**0**	**0**	**0**	**0**	**0**	**0**
38	Nagpur Commr.	0	0	0	0	0	0
39	Pune Commr.	0	0	0	0	0	0
40	Thane Commr.	0	0	0	0	0	0
41	Mumbai Commr.	0	0	0	0	0	0
42	Nasik Commr.	0	0	0	0	0	0
43	Aurangabad Commr.	0	0	0	0	0	0
44	Solapur Commr.	0	0	0	0	0	0
45	Navi Mumbai	0	0	0	0	0	0
46	Amravati Commr.	0	0	0	0	0	0
	Total Commrs.	**0**	**0**	**0**	**0**	**0**	**0**
	Total	**0**	**0**	**0**	**0**	**0**	**0**

तक्ता क्र. ९२ (ब) (चालू)

Table - 92 (B) (Continued)

Sr.No.	Unit	Publishing /making available false Electronic Signature Certificate (Section 73)			Create/publish/make available Electronic Signature Certificate for fraudulent/unlawful purpose (Section 74)		
		Male	Female	Total	Male	Female	Total
1	2	63	64	65	66	67	68
1	Akola	0	0	0	0	0	0
2	Amravati Rural	0	0	0	0	0	0
3	Buldhana	0	0	0	0	0	0
4	Yavatmal	0	0	0	0	0	0
5	Washim	0	0	0	0	0	0
	Amravati Range	**0**	**0**	**0**	**0**	**0**	**0**
6	Aurangabad Rural	0	0	0	0	0	0
7	Jalna	0	0	0	0	0	0
8	Beed	0	0	0	0	0	0
9	Osmanabad	0	0	0	0	0	0
	Aurangabad Range	**0**	**0**	**0**	**0**	**0**	**0**
10	Nanded	0	0	0	0	0	0
11	Latur	0	0	0	0	0	0
12	Parbhani	0	0	0	0	0	0
13	Hingoli	0	0	0	0	0	0
	Nanded Range	**0**	**0**	**0**	**0**	**0**	**0**
14	Kolhapur	0	0	0	0	0	0
15	Pune Rural	0	0	0	0	0	0
16	Sangli	0	0	0	0	0	0
17	Satara	0	0	0	0	0	0
18	Solapur Rural	0	0	0	0	0	0
	Kolhapur Range	**0**	**0**	**0**	**0**	**0**	**0**
19	Bhandara	0	0	0	0	0	0
20	Chandrapur	0	0	0	0	0	0
21	Nagpur Rural	0	0	0	0	0	0
22	Wardha	0	0	0	0	0	0
	Nagpur Range	**0**	**0**	**0**	**0**	**0**	**0**
23	Gadchiroli	0	0	0	0	0	0
24	Gondia	0	0	0	0	0	0
	Gadchiroli Range	**0**	**0**	**0**	**0**	**0**	**0**
25	Ahmednagar	0	0	0	0	0	0
26	Dhule	0	0	0	0	0	0
27	Jalgaon	0	0	0	0	0	0
28	Nasik Rural	0	0	0	0	0	0
29	Nandurbar	0	0	0	0	0	0
	Nasik Range	**0**	**0**	**0**	**0**	**0**	**0**
30	Raigad	0	0	0	0	0	0
31	Ratnagiri	0	0	0	0	0	0
32	Sindhudurg	0	0	0	0	0	0
33	Thane Rural	0	0	0	0	0	0
34	Palghar	0	0	0	0	0	0
	Thane Range	**0**	**0**	**0**	**0**	**0**	**0**
35	Mumbai Railway	0	0	0	0	0	0
36	Pune Railway	0	0	0	0	0	0
37	Nagpur Railway	0	0	0	0	0	0
	Railway Range	**0**	**0**	**0**	**0**	**0**	**0**
38	Nagpur Commr.	0	0	0	0	0	0
39	Pune Commr.	0	0	0	0	0	0
40	Thane Commr.	0	0	0	0	0	0
41	Mumbai Commr.	0	0	0	0	0	0
42	Nasik Commr.	0	0	0	0	0	0
43	Aurangabad Commr.	0	0	0	0	0	0
44	Solapur Commr.	0	0	0	0	0	0
45	Navi Mumbai	0	0	0	0	0	0
46	Amravati Commr.	0	0	0	0	0	0
	Total Commrs.	**0**	**0**	**0**	**0**	**0**	**0**
	Total	**0**	**0**	**0**	**0**	**0**	**0**

तक्ता क्र. ९२-(ब) (पूर्ण)

Table - 92-(B) (CONCLUDED)

Sr.No.	Unit	Others			Total (excluding sub heads)		
		Male	Female	Total	Male	Female	Total
1	**2**	**69**	**70**	**71**	**72**	**73**	**74**
1	Akola	0	0	0	5	0	5
2	Amravati Rural	0	0	0	7	0	7
3	Buldhana	0	0	0	1	0	1
4	Yavatmal	0	0	0	9	0	9
5	Washim	0	0	0	0	0	0
	Amravati Range	**0**	**0**	**0**	**22**	**0**	**22**
6	Aurangabad Rural	0	0	0	0	0	0
7	Jalna	0	0	0	8	0	8
8	Beed	0	0	0	0	0	0
9	Osmanabad	0	0	0	0	0	0
	Aurangabad Range	**0**	**0**	**0**	**8**	**0**	**8**
10	Nanded	0	0	0	7	0	7
11	Latur	0	0	0	0	0	0
12	Parbhani	0	0	0	3	0	3
13	Hingoli	0	0	0	0	0	0
	Nanded Range	**0**	**0**	**0**	**10**	**0**	**10**
14	Kolhapur	0	0	0	0	0	0
15	Pune Rural	0	0	0	1	0	1
16	Sangli	0	0	0	1	0	1
17	Satara	0	0	0	2	0	2
18	Solapur Rural	0	0	0	4	0	4
	Kolhapur Range	**0**	**0**	**0**	**8**	**0**	**8**
19	Bhandara	0	0	0	5	0	5
20	Chandrapur	3	0	3	5	0	5
21	Nagpur Rural	0	0	0	0	0	0
22	Wardha	0	0	0	0	0	0
	Nagpur Range	**3**	**0**	**3**	**10**	**0**	**10**
23	Gadchiroli	0	0	0	0	0	0
24	Gondia	0	0	0	1	0	1
	Gadchiroli Range	**0**	**0**	**0**	**1**	**0**	**1**
25	Ahmednagar	0	0	0	7	0	7
26	Dhule	0	0	0	0	0	0
27	Jalgaon	0	0	0	14	0	14
28	Nasik Rural	0	0	0	3	0	3
29	Nandurbar	0	0	0	0	0	0
	Nasik Range	**0**	**0**	**0**	**24**	**0**	**24**
30	Raigad	0	0	0	0	0	0
31	Ratnagiri	0	0	0	1	0	1
32	Sindhudurg	0	0	0	0	0	0
33	Thane Rural	0	0	0	1	0	1
34	Palghar	0	0	0	4	0	4
	Thane Range	**0**	**0**	**0**	**6**	**0**	**6**
35	Mumbai Railway	0	0	0	0	0	0
36	Pune Railway	0	0	0	0	0	0
37	Nagpur Railway	0	0	0	0	0	0
	Railway Range	**0**	**0**	**0**	**0**	**0**	**0**
38	Nagpur Commr.	1	0	1	5	0	5
39	Pune Commr.	0	0	0	1	0	1
40	Thane Commr.	6	0	6	82	1	83
41	Mumbai Commr.	0	0	0	5	0	5
42	Nasik Commr.	0	0	0	5	1	6
43	Aurangabad Commr.	0	0	0	14	0	14
44	Solapur Commr.	0	0	0	19	0	19
45	Navi Mumbai	0	0	0	7	2	9
46	Amravati Commr.	0	0	0	5	0	5
	Total Commrs.	**7**	**0**	**7**	**143**	**4**	**147**
	Total	**10**	**0**	**10**	**232**	**4**	**236**

तक्ता क्र. ९२- (क)

सन २०१५ मधील भा.द.वि.सं कायद्यांतर्गत (संगणकाचा लक्ष्य/माध्यम म्हणून वापर करून) विविध गुन्हे शिषर्काखाली दखलपात्र गुन्हयांमधे अटक आरोपीतांची लिंगनिहाय माहिती

Table - 92-(C)

Sex-wise Persons Arrested under Cognizable Crimes of Different Crime Heads of IPC (involving Computer As Medium/Target) During 2015

Sr.No	Unit	Offences by Public Servant (Section 167)			Fabrication/Destruction of electronic records for evidence (Section 193, 204)		
		Male	Female	Total	Male	Female	Total
1	2	3	4	5	6	7	8
1	Akola	0	0	0	0	0	0
2	Amravati Rural	0	0	0	0	0	0
3	Buldhana	0	0	0	0	0	0
4	Yavatmal	0	0	0	0	0	0
5	Washim	0	0	0	0	0	0
	Amravati Range	**0**	**0**	**0**	**0**	**0**	**0**
6	Aurangabad Rural	0	0	0	0	0	0
7	Jalna	0	0	0	0	0	0
8	Beed	0	0	0	0	0	0
9	Osmanabad	0	0	0	0	0	0
	Aurangabad Range	**0**	**0**	**0**	**0**	**0**	**0**
10	Nanded	0	0	0	0	0	0
11	Latur	0	0	0	0	0	0
12	Parbhani	0	0	0	0	0	0
13	Hingoli	0	0	0	0	0	0
	Nanded Range	**0**	**0**	**0**	**0**	**0**	**0**
14	Kolhapur	0	0	0	0	0	0
15	Pune Rural	0	0	0	0	0	0
16	Sangli	0	0	0	0	0	0
17	Satara	0	0	0	0	0	0
18	Solapur Rural	0	0	0	0	0	0
	Kolhapur Range	**0**	**0**	**0**	**0**	**0**	**0**
19	Bhandara	0	0	0	0	0	0
20	Chandrapur	0	0	0	0	0	0
21	Nagpur Rural	0	0	0	0	0	0
22	Wardha	0	0	0	0	0	0
	Nagpur Range	**0**	**0**	**0**	**0**	**0**	**0**
23	Gadchiroli	0	0	0	0	0	0
24	Gondia	0	0	0	0	0	0
	Gadchiroli Range	**0**	**0**	**0**	**0**	**0**	**0**
25	Ahmednagar	0	0	0	0	0	0
26	Dhule	0	0	0	0	0	0
27	Jalgaon	0	0	0	0	0	0
28	Nasik Rural	0	0	0	0	0	0
29	Nandurbar	0	0	0	0	0	0
	Nasik Range	**0**	**0**	**0**	**0**	**0**	**0**
30	Raigad	0	0	0	0	0	0
31	Ratnagiri	0	0	0	0	0	0
32	Sindhudurg	0	0	0	0	0	0
33	Thane Rural	0	0	0	0	0	0
34	Palghar	0	0	0	0	0	0
	Thane Range	**0**	**0**	**0**	**0**	**0**	**0**
35	Mumbai Railway	0	0	0	0	0	0
36	Pune Railway	0	0	0	0	0	0
37	Nagpur Railway	0	0	0	0	0	0
	Railway Range	**0**	**0**	**0**	**0**	**0**	**0**
38	Nagpur Commr.	0	0	0	0	0	0
39	Pune Commr.	0	0	0	0	0	0
40	Thane Commr.	0	0	0	0	0	0
41	Mumbai Commr.	0	0	0	0	0	0
42	Nasik Commr.	0	0	0	0	0	0
43	Aurangabad Commr.	0	0	0	0	0	0
44	Solapur Commr.	0	0	0	0	0	0
45	Navi Mumbai	0	0	0	0	0	0
46	Amravati Commr.	0	0	0	0	0	0
	Total Commrs.	**0**	**0**	**0**	**0**	**0**	**0**
	Total	**0**	**0**	**0**	**0**	**0**	**0**

तक्ता क्र. ९२ (क) (चालू)

Table - 92-(C) (Continued)

Sr.No	Unit	Cheating (Section 420)			Forgery (Section 465-469,471& 477A)		
		Male	Female	Total	Male	Female	Total
1	2	9	10	11	12	13	15
1	Akola	2	0	2	0	0	0
2	Amravati Rural	0	0	0	0	0	0
3	Buldhana	5	0	5	0	0	0
4	Yavatmal	0	0	0	0	0	0
5	Washim	0	0	0	0	0	0
	Amravati Range	**7**	**0**	**7**	**0**	**0**	**0**
6	Aurangabad Rural	1	0	1	0	0	0
7	Jalna	0	0	0	0	0	0
8	Beed	0	0	0	0	0	0
9	Osmanabad	0	0	0	0	0	0
	Aurangabad Range	**1**	**0**	**1**	**0**	**0**	**0**
10	Nanded	5	0	5	0	0	0
11	Latur	0	0	0	0	0	0
12	Parbhani	2	0	2	0	0	0
13	Hingoli	0	0	0	0	0	0
	Nanded Range	**7**	**0**	**7**	**0**	**0**	**0**
14	Kolhapur	8	0	8	0	0	0
15	Pune Rural	1	0	1	0	0	0
16	Sangli	12	1	13	0	0	0
17	Satara	0	0	0	0	0	0
18	Solapur Rural	0	0	0	5	0	5
	Kolhapur Range	**21**	**1**	**22**	**5**	**0**	**5**
19	Bhandara	0	0	0	0	0	0
20	Chandrapur	5	1	6	0	0	0
21	Nagpur Rural	2	0	2	0	0	0
22	Wardha	0	0	0	0	0	0
	Nagpur Range	**7**	**1**	**8**	**0**	**0**	**0**
23	Gadchiroli	0	0	0	0	0	0
24	Gondia	0	0	0	0	0	0
	Gadchiroli Range	**0**	**0**	**0**	**0**	**0**	**0**
25	Ahmednagar	2	0	2	0	0	0
26	Dhule	0	0	0	0	0	0
27	Jalgaon	1	0	1	0	0	0
28	Nasik Rural	2	0	2	0	0	0
29	Nandurbar	0	0	0	0	0	0
	Nasik Range	**5**	**0**	**5**	**0**	**0**	**0**
30	Raigad	9	0	9	0	0	0
31	Ratnagiri	0	0	0	0	0	0
32	Sindhudurg	2	0	2	0	0	0
33	Thane Rural	0	0	0	0	0	0
34	Palghar	4	0	4	0	0	0
	Thane Range	**15**	**0**	**15**	**0**	**0**	**0**
35	Mumbai Railway	0	0	0	0	0	0
36	Pune Railway	0	0	0	0	0	0
37	Nagpur Railway	0	0	0	0	0	0
	Railway Range	**0**	**0**	**0**	**0**	**0**	**0**
38	Nagpur Commr.	18	0	18	0	0	0
39	Pune Commr.	59	0	59	0	0	0
40	Thane Commr.	0	0	0	0	0	0
41	Mumbai Commr.	46	0	46	5	0	5
42	Nasik Commr.	2	1	3	0	0	0
43	Aurangabad Commr.	3	0	3	0	0	0
44	Solapur Commr.	4	0	4	0	0	0
45	Navi Mumbai	30	0	30	0	0	0
46	Amravati Commr.	1	0	1	0	0	0
	Total Commrs.	**163**	**1**	**164**	**5**	**0**	**5**
	Total	**226**	**3**	**229**	**10**	**0**	**10**

तक्ता क्र. ९२ (क) (चालू)

Table - 92-(C) (Continued)

Sr.No	Unit	Data theft (Section 379 to 381)			Criminal Breach of Trust/Fraud (Section 406, 408, 409) Criminal Breach of Trust/Fraud (Section 406, 408, 409) Total		
		Male	Female	Total	Male	Female	Total
1	2	16	17	18	19	20	21
1	Akola	0	0	0	0	0	0
2	Amravati Rural	0	0	0	0	0	0
3	Buldhana	0	0	0	0	0	0
4	Yavatmal	0	0	0	0	0	0
5	Washim	0	0	0	0	0	0
	Amravati Range	**0**	**0**	**0**	**0**	**0**	**0**
6	Aurangabad Rural	0	0	0	2	0	2
7	Jalna	0	0	0	0	0	0
8	Beed	0	0	0	0	0	0
9	Osmanabad	0	0	0	0	0	0
	Aurangabad Range	**0**	**0**	**0**	**2**	**0**	**2**
10	Nanded	0	0	0	0	0	0
11	Latur	0	0	0	0	0	0
12	Parbhani	0	0	0	0	0	0
13	Hingoli	0	0	0	0	0	0
	Nanded Range	**0**	**0**	**0**	**0**	**0**	**0**
14	Kolhapur	0	0	0	0	0	0
15	Pune Rural	0	0	0	0	0	0
16	Sangli	0	0	0	0	0	0
17	Satara	0	0	0	0	0	0
18	Solapur Rural	0	0	0	0	0	0
	Kolhapur Range	**0**	**0**	**0**	**0**	**0**	**0**
19	Bhandara	0	0	0	0	0	0
20	Chandrapur	3	2	5	0	0	0
21	Nagpur Rural	0	0	0	0	0	0
22	Wardha	0	0	0	0	0	0
	Nagpur Range	**3**	**2**	**5**	**0**	**0**	**0**
23	Gadchiroli	0	0	0	0	0	0
24	Gondia	0	0	0	0	0	0
	Gadchiroli Range	**0**	**0**	**0**	**0**	**0**	**0**
25	Ahmednagar	0	0	0	0	0	0
26	Dhule	0	0	0	0	0	0
27	Jalgaon	0	0	0	1	0	1
28	Nasik Rural	0	0	0	0	0	0
29	Nandurbar	0	0	0	0	0	0
	Nasik Range	**0**	**0**	**0**	**1**	**0**	**1**
30	Raigad	0	0	0	0	0	0
31	Ratnagiri	0	0	0	0	0	0
32	Sindhudurg	0	0	0	0	0	0
33	Thane Rural	0	0	0	0	0	0
34	Palghar	0	0	0	0	0	0
	Thane Range	**0**	**0**	**0**	**0**	**0**	**0**
35	Mumbai Railway	0	0	0	0	0	0
36	Pune Railway	0	0	0	0	0	0
37	Nagpur Railway	0	0	0	0	0	0
	Railway Range	**0**	**0**	**0**	**0**	**0**	**0**
38	Nagpur Commr.	0	0	0	0	0	0
39	Pune Commr.	0	0	0	2	0	2
40	Thane Commr.	0	0	0	0	0	0
41	Mumbai Commr.	3	0	3	7	0	7
42	Nasik Commr.	0	0	0	0	0	0
43	Aurangabad Commr.	0	0	0	0	0	0
44	Solapur Commr.	0	0	0	0	0	0
45	Navi Mumbai	0	0	0	0	0	0
46	Amravati Commr.	0	0	0	0	0	0
	Total Commrs.	**3**	**0**	**3**	**9**	**0**	**9**
	Total	**6**	**2**	**8**	**12**	**0**	**12**

तक्ता क्र. ९२ (क) (चालू)

Table - 92-(C) (Continued)

Sr.No	Unit	Criminal Breach of Trust/Fraud (Section 406, 408, 409)					
		of Credit / Debit Card			of Others		
		Male	Female	Total	Male	Female	Total
1	2	22	23	24	25	26	27
1	Akola	0	0	0	0	0	0
2	Amravati Rural	0	0	0	0	0	0
3	Buldhana	0	0	0	0	0	0
4	Yavatmal	0	0	0	0	0	0
5	Washim	0	0	0	0	0	0
	Amravati Range	**0**	**0**	**0**	**0**	**0**	**0**
6	Aurangabad Rural	0	0	0	2	0	2
7	Jalna	0	0	0	0	0	0
8	Beed	0	0	0	0	0	0
9	Osmanabad	0	0	0	0	0	0
	Aurangabad Range	**0**	**0**	**0**	**2**	**0**	**2**
10	Nanded	0	0	0	0	0	0
11	Latur	0	0	0	0	0	0
12	Parbhani	0	0	0	0	0	0
13	Hingoli	0	0	0	0	0	0
	Nanded Range	**0**	**0**	**0**	**0**	**0**	**0**
14	Kolhapur	0	0	0	0	0	0
15	Pune Rural	0	0	0	0	0	0
16	Sangli	0	0	0	0	0	0
17	Satara	0	0	0	0	0	0
18	Solapur Rural	0	0	0	0	0	0
	Kolhapur Range	**0**	**0**	**0**	**0**	**0**	**0**
19	Bhandara	0	0	0	0	0	0
20	Chandrapur	0	0	0	0	0	0
21	Nagpur Rural	0	0	0	0	0	0
22	Wardha	0	0	0	0	0	0
	Nagpur Range	**0**	**0**	**0**	**0**	**0**	**0**
23	Gadchiroli	0	0	0	0	0	0
24	Gondia	0	0	0	0	0	0
	Gadchiroli Range	**0**	**0**	**0**	**0**	**0**	**0**
25	Ahmednagar	0	0	0	0	0	0
26	Dhule	0	0	0	0	0	0
27	Jalgaon	0	0	0	1	0	1
28	Nasik Rural	0	0	0	0	0	0
29	Nandurbar	0	0	0	0	0	0
	Nasik Range	**0**	**0**	**0**	**1**	**0**	**1**
30	Raigad	0	0	0	0	0	0
31	Ratnagiri	0	0	0	0	0	0
32	Sindhudurg	0	0	0	0	0	0
33	Thane Rural	0	0	0	0	0	0
34	Palghar	0	0	0	0	0	0
	Thane Range	**0**	**0**	**0**	**0**	**0**	**0**
35	Mumbai Railway	0	0	0	0	0	0
36	Pune Railway	0	0	0	0	0	0
37	Nagpur Railway	0	0	0	0	0	0
	Railway Range	**0**	**0**	**0**	**0**	**0**	**0**
38	Nagpur Commr.	0	0	0	0	0	0
39	Pune Commr.	0	0	0	2	0	2
40	Thane Commr.	0	0	0	0	0	0
41	Mumbai Commr.	4	0	4	3	0	3
42	Nasik Commr.	0	0	0	0	0	0
43	Aurangabad Commr.	0	0	0	0	0	0
44	Solapur Commr.	0	0	0	0	0	0
45	Navi Mumbai	0	0	0	0	0	0
46	Amravati Commr.	0	0	0	0	0	0
	Total Commrs.	**4**	**0**	**4**	**5**	**0**	**5**
	Total	**4**	**0**	**4**	**8**	**0**	**8**

तक्ता क्र. ९२ (क) (चालू)

Table - 92-(C) (Continued)

Sr.No	Unit	Counterfeiting					
		Counterfeiting (Total)			Currency (Section 489A to 489E)		
		Male	Female	Total	Male	Female	Total
1	2	28	29	30	31	32	33
1	Akola	0	0	0	0	0	0
2	Amravati Rural	0	0	0	0	0	0
3	Buldhana	0	0	0	0	0	0
4	Yavatmal	0	0	0	0	0	0
5	Washim	0	0	0	0	0	0
	Amravati Range	**0**	**0**	**0**	**0**	**0**	**0**
6	Aurangabad Rural	0	0	0	0	0	0
7	Jalna	0	0	0	0	0	0
8	Beed	0	0	0	0	0	0
9	Osmanabad	0	0	0	0	0	0
	Aurangabad Range	**0**	**0**	**0**	**0**	**0**	**0**
10	Nanded	0	0	0	0	0	0
11	Latur	0	0	0	0	0	0
12	Parbhani	0	0	0	0	0	0
13	Hingoli	0	0	0	0	0	0
	Nanded Range	**0**	**0**	**0**	**0**	**0**	**0**
14	Kolhapur	0	0	0	0	0	0
15	Pune Rural	0	0	0	0	0	0
16	Sangli	0	0	0	0	0	0
17	Satara	0	0	0	0	0	0
18	Solapur Rural	0	0	0	0	0	0
	Kolhapur Range	**0**	**0**	**0**	**0**	**0**	**0**
19	Bhandara	0	0	0	0	0	0
20	Chandrapur	0	0	0	0	0	0
21	Nagpur Rural	0	0	0	0	0	0
22	Wardha	0	0	0	0	0	0
	Nagpur Range	**0**	**0**	**0**	**0**	**0**	**0**
23	Gadchiroli	0	0	0	0	0	0
24	Gondia	0	0	0	0	0	0
	Gadchiroli Range	**0**	**0**	**0**	**0**	**0**	**0**
25	Ahmednagar	0	0	0	0	0	0
26	Dhule	0	0	0	0	0	0
27	Jalgaon	0	0	0	0	0	0
28	Nasik Rural	0	0	0	0	0	0
29	Nandurbar	0	0	0	0	0	0
	Nasik Range	**0**	**0**	**0**	**0**	**0**	**0**
30	Raigad	0	0	0	0	0	0
31	Ratnagiri	0	0	0	0	0	0
32	Sindhudurg	0	0	0	0	0	0
33	Thane Rural	0	0	0	0	0	0
34	Palghar	0	0	0	0	0	0
	Thane Range	**0**	**0**	**0**	**0**	**0**	**0**
35	Mumbai Railway	0	0	0	0	0	0
36	Pune Railway	0	0	0	0	0	0
37	Nagpur Railway	0	0	0	0	0	0
	Railway Range	**0**	**0**	**0**	**0**	**0**	**0**
38	Nagpur Commr.	0	0	0	0	0	0
39	Pune Commr.	0	0	0	0	0	0
40	Thane Commr.	0	0	0	0	0	0
41	Mumbai Commr.	0	0	0	0	0	0
42	Nasik Commr.	0	0	0	0	0	0
43	Aurangabad Commr.	0	0	0	0	0	0
44	Solapur Commr.	0	0	0	0	0	0
45	Navi Mumbai	0	0	0	0	0	0
46	Amravati Commr.	0	0	0	0	0	0
	Total Commrs.	**0**	**0**	**0**	**0**	**0**	**0**
	Total	**0**	**0**	**0**	**0**	**0**	**0**

तक्ता क्र. ९२ (क) (चालू)

Table - 92-(C) (Continued)

Sr.No	Unit	Counterfeiting			Other IPC Crimes (involving computer as medium/target)		
		Stamps (Section 489A to 489E)					
		Stamps_Male	Stamps_Female	Stamps_Total	Male	Female	Total
1	2	34	35	36	37	38	39
1	Akola	0	0	0	6	0	6
2	Amravati Rural	0	0	0	0	0	0
3	Buldhana	0	0	0	2	0	2
4	Yavatmal	0	0	0	0	0	0
5	Washim	0	0	0	5	0	5
	Amravati Range	**0**	**0**	**0**	**13**	**0**	**13**
6	Aurangabad Rural	0	0	0	4	0	4
7	Jalna	0	0	0	0	0	0
8	Beed	0	0	0	6	2	8
9	Osmanabad	0	0	0	6	1	7
	Aurangabad Range	**0**	**0**	**0**	**16**	**3**	**19**
10	Nanded	0	0	0	29	0	29
11	Latur	0	0	0	6	0	6
12	Parbhani	0	0	0	8	0	8
13	Hingoli	0	0	0	3	0	3
	Nanded Range	**0**	**0**	**0**	**46**	**0**	**46**
14	Kolhapur	0	0	0	1	0	1
15	Pune Rural	0	0	0	7	0	7
16	Sangli	0	0	0	4	4	8
17	Satara	0	0	0	5	0	5
18	Solapur Rural	0	0	0	5	0	5
	Kolhapur Range	**0**	**0**	**0**	**22**	**4**	**26**
19	Bhandara	0	0	0	0	0	0
20	Chandrapur	0	0	0	12	0	12
21	Nagpur Rural	0	0	0	3	0	3
22	Wardha	0	0	0	0	0	0
	Nagpur Range	**0**	**0**	**0**	**15**	**0**	**15**
23	Gadchiroli	0	0	0	6	0	6
24	Gondia	0	0	0	8	0	8
	Gadchiroli Range	**0**	**0**	**0**	**14**	**0**	**14**
25	Ahmednagar	0	0	0	3	0	3
26	Dhule	0	0	0	4	0	4
27	Jalgaon	0	0	0	10	0	10
28	Nasik Rural	0	0	0	6	0	6
29	Nandurbar	0	0	0	0	0	0
	Nasik Range	**0**	**0**	**0**	**23**	**0**	**23**
30	Raigad	0	0	0	3	0	3
31	Ratnagiri	0	0	0	3	0	3
32	Sindhudurg	0	0	0	2	0	2
33	Thane Rural	0	0	0	4	0	4
34	Palghar	0	0	0	6	0	6
	Thane Range	**0**	**0**	**0**	**18**	**0**	**18**
35	Mumbai Railway	0	0	0	0	0	0
36	Pune Railway	0	0	0	0	0	0
37	Nagpur Railway	0	0	0	0	0	0
	Railway Range	**0**	**0**	**0**	**0**	**0**	**0**
38	Nagpur Commr.	0	0	0	8	0	8
39	Pune Commr.	0	0	0	4	0	4
40	Thane Commr.	0	0	0	0	0	0
41	Mumbai Commr.	0	0	0	50	0	50
42	Nasik Commr.	0	0	0	4	1	5
43	Aurangabad Commr.	0	0	0	25	2	27
44	Solapur Commr.	0	0	0	2	0	2
45	Navi Mumbai	0	0	0	17	0	17
46	Amravati Commr.	0	0	0	2	0	2
	Total Commrs.	**0**	**0**	**0**	**112**	**3**	**115**
	Total	**0**	**0**	**0**	**279**	**10**	**289**

तक्ता क्र. ९२-(क) (पूर्ण)

Table - 92(C) (CONCLUDED)

Sr.No	Unit	Total IPC crimes (involving computer as medium/target)		
		Male	Female	Total
1	2	40	41	42
1	Akola	8	0	8
2	Amravati Rural	0	0	0
3	Buldhana	7	0	7
4	Yavatmal	0	0	0
5	Washim	5	0	5
	Amravati Range	**20**	**0**	**20**
6	Aurangabad Rural	7	0	7
7	Jalna	0	0	0
8	Beed	6	2	8
9	Osmanabad	6	1	7
	Aurangabad Range	**19**	**3**	**22**
10	Nanded	34	0	34
11	Latur	6	0	6
12	Parbhani	10	0	10
13	Hingoli	3	0	3
	Nanded Range	**53**	**0**	**53**
14	Kolhapur	9	0	9
15	Pune Rural	8	0	8
16	Sangli	16	5	21
17	Satara	5	0	5
18	Solapur Rural	10	0	10
	Kolhapur Range	**48**	**5**	**53**
19	Bhandara	0	0	0
20	Chandrapur	20	3	23
21	Nagpur Rural	5	0	5
22	Wardha	0	0	0
	Nagpur Range	**25**	**3**	**28**
23	Gadchiroli	6	0	6
24	Gondia	8	0	8
	Gadchiroli Range	**14**	**0**	**14**
25	Ahmednagar	5	0	5
26	Dhule	4	0	4
27	Jalgaon	12	0	12
28	Nasik Rural	8	0	8
29	Nandurbar	0	0	0
	Nasik Range	**29**	**0**	**29**
30	Raigad	12	0	12
31	Ratnagiri	3	0	3
32	Sindhudurg	4	0	4
33	Thane Rural	4	0	4
34	Palghar	10	0	10
	Thane Range	**33**	**0**	**33**
35	Mumbai Railway	0	0	0
36	Pune Railway	0	0	0
37	Nagpur Railway	0	0	0
	Railway Range	**0**	**0**	**0**
38	Nagpur Commr.	26	0	26
39	Pune Commr.	65	0	65
40	Thane Commr.	0	0	0
41	Mumbai Commr.	111	0	111
42	Nasik Commr.	6	2	8
43	Aurangabad Commr.	28	2	30
44	Solapur Commr.	6	0	6
45	Navi Mumbai	47	0	47
46	Amravati Commr.	3	0	3
	Total Commrs.	**292**	**4**	**296**
	Total	**533**	**15**	**548**

तक्ता क्र. ९२ (ड)

सन २०१५ मधील वि. व स्था. कायद्यांतर्गत (संगणकाचा लक्ष्य/माध्यम म्हणून वापर करून) विविध गुन्हे शिषर्काखाली दाखल गुन्हयांमधे अटक आरोपीतांची लिंगनिहाय माहिती

Table - 92(D)

Sexwise Persons Arrested under Crimes of Different Crime Heads of SLL (involving Computer As Medium/Target) During 2015

Sr.No	Unit	Copy Right Act (1957)					
		Copy Right Act , 1957 total			Under Section 63		
		Male	Female	Total	Male	Female	Total
1	2	3	4	5	6	7	8
1	Akola	0	0	0	0	0	0
2	Amravati Rural	0	0	0	0	0	0
3	Buldhana	0	0	0	0	0	0
4	Yavatmal	0	0	0	0	0	0
5	Washim	0	0	0	0	0	0
	Amravati Range	**0**	**0**	**0**	**0**	**0**	**0**
6	Aurangabad Rural	0	0	0	0	0	0
7	Jalna	0	0	0	0	0	0
8	Beed	0	0	0	0	0	0
9	Osmanabad	0	0	0	0	0	0
	Aurangabad Range	**0**	**0**	**0**	**0**	**0**	**0**
10	Nanded	0	0	0	0	0	0
11	Latur	0	0	0	0	0	0
12	Parbhani	0	0	0	0	0	0
13	Hingoli	0	0	0	0	0	0
	Nanded Range	**0**	**0**	**0**	**0**	**0**	**0**
14	Kolhapur	0	0	0	0	0	0
15	Pune Rural	0	0	0	0	0	0
16	Sangli	4	0	4	4	0	4
17	Satara	0	0	0	0	0	0
18	Solapur Rural	0	0	0	0	0	0
	Kolhapur Range	**4**	**0**	**4**	**4**	**0**	**4**
19	Bhandara	0	0	0	0	0	0
20	Chandrapur	0	0	0	0	0	0
21	Nagpur Rural	0	0	0	0	0	0
22	Wardha	0	0	0	0	0	0
	Nagpur Range	**0**	**0**	**0**	**0**	**0**	**0**
23	Gadchiroli	0	0	0	0	0	0
24	Gondia	0	0	0	0	0	0
	Gadchiroli Range	**0**	**0**	**0**	**0**	**0**	**0**
25	Ahmednagar	0	0	0	0	0	0
26	Dhule	0	0	0	0	0	0
27	Jalgaon	0	0	0	0	0	0
28	Nasik Rural	0	0	0	0	0	0
29	Nandurbar	0	0	0	0	0	0
	Nasik Range	**0**	**0**	**0**	**0**	**0**	**0**
30	Raigad	0	0	0	0	0	0
31	Ratnagiri	0	0	0	0	0	0
32	Sindhudurg	0	0	0	0	0	0
33	Thane Rural	0	0	0	0	0	0
34	Palghar	0	0	0	0	0	0
	Thane Range	**0**	**0**	**0**	**0**	**0**	**0**
35	Mumbai Railway	0	0	0	0	0	0
36	Pune Railway	0	0	0	0	0	0
37	Nagpur Railway	0	0	0	0	0	0
	Railway Range	**0**	**0**	**0**	**0**	**0**	**0**
38	Nagpur Commr.	0	0	0	0	0	0
39	Pune Commr.	0	0	0	0	0	0
40	Thane Commr.	0	0	0	0	0	0
41	Mumbai Commr.	0	0	0	0	0	0
42	Nasik Commr.	0	0	0	0	0	0
43	Aurangabad Commr.	0	0	0	0	0	0
44	Solapur Commr.	0	0	0	0	0	0
45	Navi Mumbai	0	0	0	0	0	0
46	Amravati Commr.	0	0	0	0	0	0
	Total Commrs.	**0**	**0**	**0**	**0**	**0**	**0**
	Total	**4**	**0**	**4**	**4**	**0**	**4**

तक्ता क्र. ९२ (ड) (चालू)

Table - 92(D) (Continued)

Sr.No	Unit	Copy Right Act (1957)					
		Under Section 68A			Others		
		Male	Female	Total	Male	Female	Total
1	2	9	10	11	12	13	14
1	Akola	0	0	0	0	0	0
2	Amravati Rural	0	0	0	0	0	0
3	Buldhana	0	0	0	0	0	0
4	Yavatmal	0	0	0	0	0	0
5	Washim	0	0	0	0	0	0
	Amravati Range	**0**	**0**	**0**	**0**	**0**	**0**
6	Aurangabad Rural	0	0	0	0	0	0
7	Jalna	0	0	0	0	0	0
8	Beed	0	0	0	0	0	0
9	Osmanabad	0	0	0	0	0	0
	Aurangabad Range	**0**	**0**	**0**	**0**	**0**	**0**
10	Nanded	0	0	0	0	0	0
11	Latur	0	0	0	0	0	0
12	Parbhani	0	0	0	0	0	0
13	Hingoli	0	0	0	0	0	0
	Nanded Range	**0**	**0**	**0**	**0**	**0**	**0**
14	Kolhapur	0	0	0	0	0	0
15	Pune Rural	0	0	0	0	0	0
16	Sangli	0	0	0	0	0	0
17	Satara	0	0	0	0	0	0
18	Solapur Rural	0	0	0	0	0	0
	Kolhapur Range	**0**	**0**	**0**	**0**	**0**	**0**
19	Bhandara	0	0	0	0	0	0
20	Chandrapur	0	0	0	0	0	0
21	Nagpur Rural	0	0	0	0	0	0
22	Wardha	0	0	0	0	0	0
	Nagpur Range	**0**	**0**	**0**	**0**	**0**	**0**
23	Gadchiroli	0	0	0	0	0	0
24	Gondia	0	0	0	0	0	0
	Gadchiroli Range	**0**	**0**	**0**	**0**	**0**	**0**
25	Ahmednagar	0	0	0	0	0	0
26	Dhule	0	0	0	0	0	0
27	Jalgaon	0	0	0	0	0	0
28	Nasik Rural	0	0	0	0	0	0
29	Nandurbar	0	0	0	0	0	0
	Nasik Range	**0**	**0**	**0**	**0**	**0**	**0**
30	Raigad	0	0	0	0	0	0
31	Ratnagiri	0	0	0	0	0	0
32	Sindhudurg	0	0	0	0	0	0
33	Thane Rural	0	0	0	0	0	0
34	Palghar	0	0	0	0	0	0
	Thane Range	**0**	**0**	**0**	**0**	**0**	**0**
35	Mumbai Railway	0	0	0	0	0	0
36	Pune Railway	0	0	0	0	0	0
37	Nagpur Railway	0	0	0	0	0	0
	Railway Range	**0**	**0**	**0**	**0**	**0**	**0**
38	Nagpur Commr.	0	0	0	0	0	0
39	Pune Commr.	0	0	0	0	0	0
40	Thane Commr.	0	0	0	0	0	0
41	Mumbai Commr.	0	0	0	0	0	0
42	Nasik Commr.	0	0	0	0	0	0
43	Aurangabad Commr.	0	0	0	0	0	0
44	Solapur Commr.	0	0	0	0	0	0
45	Navi Mumbai	0	0	0	0	0	0
46	Amravati Commr.	0	0	0	0	0	0
	Total Commrs.	**0**	**0**	**0**	**0**	**0**	**0**
	Total	**0**	**0**	**0**	**0**	**0**	**0**

तक्ता क्र. ९२ (ड) (चालू)

Table - 92(D) (Continued)

Sr.No	Unit	Trade Marks Act 1999					
		Trade Marks Act 1999 Total			Under Section 102		
		Male	Female	Total	Male	Female	Total
1	2	15	16	17	18	19	20
1	Akola	0	0	0	0	0	0
2	Amravati Rural	0	0	0	0	0	0
3	Buldhana	0	0	0	0	0	0
4	Yavatmal	0	0	0	0	0	0
5	Washim	0	0	0	0	0	0
	Amravati Range	**0**	**0**	**0**	**0**	**0**	**0**
6	Aurangabad Rural	0	0	0	0	0	0
7	Jalna	0	0	0	0	0	0
8	Beed	0	0	0	0	0	0
9	Osmanabad	0	0	0	0	0	0
	Aurangabad Range	**0**	**0**	**0**	**0**	**0**	**0**
10	Nanded	0	0	0	0	0	0
11	Latur	0	0	0	0	0	0
12	Parbhani	0	0	0	0	0	0
13	Hingoli	0	0	0	0	0	0
	Nanded Range	**0**	**0**	**0**	**0**	**0**	**0**
14	Kolhapur	0	0	0	0	0	0
15	Pune Rural	0	0	0	0	0	0
16	Sangli	0	0	0	0	0	0
17	Satara	0	0	0	0	0	0
18	Solapur Rural	0	0	0	0	0	0
	Kolhapur Range	**0**	**0**	**0**	**0**	**0**	**0**
19	Bhandara	0	0	0	0	0	0
20	Chandrapur	0	0	0	0	0	0
21	Nagpur Rural	0	0	0	0	0	0
22	Wardha	0	0	0	0	0	0
	Nagpur Range	**0**	**0**	**0**	**0**	**0**	**0**
23	Gadchiroli	0	0	0	0	0	0
24	Gondia	0	0	0	0	0	0
	Gadchiroli Range	**0**	**0**	**0**	**0**	**0**	**0**
25	Ahmednagar	0	0	0	0	0	0
26	Dhule	0	0	0	0	0	0
27	Jalgaon	0	0	0	0	0	0
28	Nasik Rural	0	0	0	0	0	0
29	Nandurbar	0	0	0	0	0	0
	Nasik Range	**0**	**0**	**0**	**0**	**0**	**0**
30	Raigad	0	0	0	0	0	0
31	Ratnagiri	0	0	0	0	0	0
32	Sindhudurg	0	0	0	0	0	0
33	Thane Rural	0	0	0	0	0	0
34	Palghar	0	0	0	0	0	0
	Thane Range	**0**	**0**	**0**	**0**	**0**	**0**
35	Mumbai Railway	0	0	0	0	0	0
36	Pune Railway	0	0	0	0	0	0
37	Nagpur Railway	0	0	0	0	0	0
	Railway Range	**0**	**0**	**0**	**0**	**0**	**0**
38	Nagpur Commr.	0	0	0	0	0	0
39	Pune Commr.	0	0	0	0	0	0
40	Thane Commr.	0	0	0	0	0	0
41	Mumbai Commr.	0	0	0	0	0	0
42	Nasik Commr.	0	0	0	0	0	0
43	Aurangabad Commr.	0	0	0	0	0	0
44	Solapur Commr.	0	0	0	0	0	0
45	Navi Mumbai	0	0	0	0	0	0
46	Amravati Commr.	0	0	0	0	0	0
	Total Commrs.	**0**	**0**	**0**	**0**	**0**	**0**
	Total	**0**	**0**	**0**	**0**	**0**	**0**

तक्ता क्र. ९२ (ड) (चालू)

Table - 92(D) (Continued)

Sr.No	Unit	Trade Marks Act 1999					
		Under Section 103			Under Section 104		
		Male	Female	Total	Male	Female	Total
1	2	21	22	23	24	25	26
1	Akola	0	0	0	0	0	0
2	Amravati Rural	0	0	0	0	0	0
3	Buldhana	0	0	0	0	0	0
4	Yavatmal	0	0	0	0	0	0
5	Washim	0	0	0	0	0	0
	Amravati Range	**0**	**0**	**0**	**0**	**0**	**0**
6	Aurangabad Rural	0	0	0	0	0	0
7	Jalna	0	0	0	0	0	0
8	Beed	0	0	0	0	0	0
9	Osmanabad	0	0	0	0	0	0
	Aurangabad Range	**0**	**0**	**0**	**0**	**0**	**0**
10	Nanded	0	0	0	0	0	0
11	Latur	0	0	0	0	0	0
12	Parbhani	0	0	0	0	0	0
13	Hingoli	0	0	0	0	0	0
	Nanded Range	**0**	**0**	**0**	**0**	**0**	**0**
14	Kolhapur	0	0	0	0	0	0
15	Pune Rural	0	0	0	0	0	0
16	Sangli	0	0	0	0	0	0
17	Satara	0	0	0	0	0	0
18	Solapur Rural	0	0	0	0	0	0
	Kolhapur Range	**0**	**0**	**0**	**0**	**0**	**0**
19	Bhandara	0	0	0	0	0	0
20	Chandrapur	0	0	0	0	0	0
21	Nagpur Rural	0	0	0	0	0	0
22	Wardha	0	0	0	0	0	0
	Nagpur Range	**0**	**0**	**0**	**0**	**0**	**0**
23	Gadchiroli	0	0	0	0	0	0
24	Gondia	0	0	0	0	0	0
	Gadchiroli Range	**0**	**0**	**0**	**0**	**0**	**0**
25	Ahmednagar	0	0	0	0	0	0
26	Dhule	0	0	0	0	0	0
27	Jalgaon	0	0	0	0	0	0
28	Nasik Rural	0	0	0	0	0	0
29	Nandurbar	0	0	0	0	0	0
	Nasik Range	**0**	**0**	**0**	**0**	**0**	**0**
30	Raigad	0	0	0	0	0	0
31	Ratnagiri	0	0	0	0	0	0
32	Sindhudurg	0	0	0	0	0	0
33	Thane Rural	0	0	0	0	0	0
34	Palghar	0	0	0	0	0	0
	Thane Range	**0**	**0**	**0**	**0**	**0**	**0**
35	Mumbai Railway	0	0	0	0	0	0
36	Pune Railway	0	0	0	0	0	0
37	Nagpur Railway	0	0	0	0	0	0
	Railway Range	**0**	**0**	**0**	**0**	**0**	**0**
38	Nagpur Commr.	0	0	0	0	0	0
39	Pune Commr.	0	0	0	0	0	0
40	Thane Commr.	0	0	0	0	0	0
41	Mumbai Commr.	0	0	0	0	0	0
42	Nasik Commr.	0	0	0	0	0	0
43	Aurangabad Commr.	0	0	0	0	0	0
44	Solapur Commr.	0	0	0	0	0	0
45	Navi Mumbai	0	0	0	0	0	0
46	Amravati Commr.	0	0	0	0	0	0
	Total Commrs.	**0**	**0**	**0**	**0**	**0**	**0**
	Total	**0**	**0**	**0**	**0**	**0**	**0**

तक्ता क्र. ९२ (ड) (चालू)

Table - 92(D) (Continued)

Sr.No	Unit	Trade Marks Act 1999 Others			Other Cognizable SLL Crimes (Involving computer as Medium/Target)		
		Male	Female	Total	Male	Female	Total
1	2	27	28	29	30	31	32
1	Akola	0	0	0	0	0	0
2	Amravati Rural	0	0	0	0	0	0
3	Buldhana	0	0	0	0	0	0
4	Yavatmal	0	0	0	0	0	0
5	Washim	0	0	0	0	0	0
	Amravati Range	**0**	**0**	**0**	**0**	**0**	**0**
6	Aurangabad Rural	0	0	0	0	0	0
7	Jalna	0	0	0	0	0	0
8	Beed	0	0	0	0	0	0
9	Osmanabad	0	0	0	0	0	0
	Aurangabad Range	**0**	**0**	**0**	**0**	**0**	**0**
10	Nanded	0	0	0	0	0	0
11	Latur	0	0	0	0	0	0
12	Parbhani	0	0	0	0	0	0
13	Hingoli	0	0	0	0	0	0
	Nanded Range	**0**	**0**	**0**	**0**	**0**	**0**
14	Kolhapur	0	0	0	0	0	0
15	Pune Rural	0	0	0	1	0	1
16	Sangli	0	0	0	0	0	0
17	Satara	0	0	0	0	0	0
18	Solapur Rural	0	0	0	0	0	0
	Kolhapur Range	**0**	**0**	**0**	**1**	**0**	**1**
19	Bhandara	0	0	0	0	0	0
20	Chandrapur	0	0	0	0	0	0
21	Nagpur Rural	0	0	0	0	0	0
22	Wardha	0	0	0	0	0	0
	Nagpur Range	**0**	**0**	**0**	**0**	**0**	**0**
23	Gadchiroli	0	0	0	0	0	0
24	Gondia	0	0	0	4	0	4
	Gadchiroli Range	**0**	**0**	**0**	**4**	**0**	**4**
25	Ahmednagar	0	0	0	0	0	0
26	Dhule	0	0	0	0	0	0
27	Jalgaon	0	0	0	0	0	0
28	Nasik Rural	0	0	0	0	0	0
29	Nandurbar	0	0	0	0	0	0
	Nasik Range	**0**	**0**	**0**	**0**	**0**	**0**
30	Raigad	0	0	0	0	0	0
31	Ratnagiri	0	0	0	0	0	0
32	Sindhudurg	0	0	0	0	0	0
33	Thane Rural	0	0	0	0	0	0
34	Palghar	0	0	0	0	0	0
	Thane Range	**0**	**0**	**0**	**0**	**0**	**0**
35	Mumbai Railway	0	0	0	0	0	0
36	Pune Railway	0	0	0	0	0	0
37	Nagpur Railway	0	0	0	0	0	0
	Railway Range	**0**	**0**	**0**	**0**	**0**	**0**
38	Nagpur Commr.	0	0	0	0	0	0
39	Pune Commr.	0	0	0	0	0	0
40	Thane Commr.	0	0	0	0	0	0
41	Mumbai Commr.	0	0	0	0	0	0
42	Nasik Commr.	0	0	0	0	0	0
43	Aurangabad Commr.	0	0	0	0	0	0
44	Solapur Commr.	0	0	0	0	0	0
45	Navi Mumbai	0	0	0	0	0	0
46	Amravati Commr.	0	0	0	0	0	0
	Total Commrs.	**0**	**0**	**0**	**0**	**0**	**0**
	Total	**0**	**0**	**0**	**5**	**0**	**5**

तक्ता क्र. ९२-(ड) (पूर्ण)

Table - 92-(D) (CONCLUDED)

Sr.No	Unit	Total Cognizable SLL Crimes (Involving computer as Medium/Target)		
		Male	Female	Total
1	2	33	34	35
1	Akola	0	0	0
2	Amravati Rural	0	0	0
3	Buldhana	0	0	0
4	Yavatmal	0	0	0
5	Washim	0	0	0
	Amravati Range	**0**	**0**	**0**
6	Aurangabad Rural	0	0	0
7	Jalna	0	0	0
8	Beed	0	0	0
9	Osmanabad	0	0	0
	Aurangabad Range	**0**	**0**	**0**
10	Nanded	0	0	0
11	Latur	0	0	0
12	Parbhani	0	0	0
13	Hingoli	0	0	0
	Nanded Range	**0**	**0**	**0**
14	Kolhapur	0	0	0
15	Pune Rural	1	0	1
16	Sangli	4	0	4
17	Satara	0	0	0
18	Solapur Rural	0	0	0
	Kolhapur Range	**5**	**0**	**5**
19	Bhandara	0	0	0
20	Chandrapur	0	0	0
21	Nagpur Rural	0	0	0
22	Wardha	0	0	0
	Nagpur Range	**0**	**0**	**0**
23	Gadchiroli	0	0	0
24	Gondia	4	0	4
	Gadchiroli Range	**4**	**0**	**4**
25	Ahmednagar	0	0	0
26	Dhule	0	0	0
27	Jalgaon	0	0	0
28	Nasik Rural	0	0	0
29	Nandurbar	0	0	0
	Nasik Range	**0**	**0**	**0**
30	Raigad	0	0	0
31	Ratnagiri	0	0	0
32	Sindhudurg	0	0	0
33	Thane Rural	0	0	0
34	Palghar	0	0	0
	Thane Range	**0**	**0**	**0**
35	Mumbai Railway	0	0	0
36	Pune Railway	0	0	0
37	Nagpur Railway	0	0	0
	Railway Range	**0**	**0**	**0**
38	Nagpur Commr.	0	0	0
39	Pune Commr.	0	0	0
40	Thane Commr.	0	0	0
41	Mumbai Commr.	0	0	0
42	Nasik Commr.	0	0	0
43	Aurangabad Commr.	0	0	0
44	Solapur Commr.	0	0	0
45	Navi Mumbai	0	0	0
46	Amravati Commr.	0	0	0
	Total Commrs.	**0**	**0**	**0**
	Total	**9**	**0**	**9**

तक्ता क्र. ९२ (इ)

सन २०१५ मधील गुन्हयाच्या उद्देशानुसार सायबर गुन्हयांची माहिती

Table - 92(E)

Cyber Crimes by Motives of Crime During 2015

Sr.No	Unit	Personal Revenge / Settling scores	Emotional motives like Anger, Revenge, etc	Greed / Financial Gain	Extortion	Causing Desrepute	Prank / Satisfaction of Gaining Control
1	2	3	4	5	6	7	8
1	Akola	0	0	0	0	0	0
2	Amravati Rural	0	0	0	0	0	0
3	Buldhana	0	0	7	0	1	0
4	Yavatmal	0	0	0	0	0	0
5	Washim	0	0	0	0	0	0
	Amravati Range	**0**	**0**	**7**	**0**	**1**	**0**
6	Aurangabad Rural	0	0	8	0	0	0
7	Jalna	0	0	0	0	0	0
8	Beed	0	0	0	0	0	0
9	Osmanabad	0	0	0	0	1	0
	Aurangabad Range	**0**	**0**	**8**	**0**	**1**	**0**
10	Nanded	0	0	0	0	0	0
11	Latur	0	0	0	0	0	0
12	Parbhani	0	0	1	0	0	0
13	Hingoli	0	0	0	0	0	0
	Nanded Range	**0**	**0**	**1**	**0**	**0**	**0**
14	Kolhapur	0	0	4	1	0	0
15	Pune Rural	4	0	23	0	7	0
16	Sangli	0	0	0	1	0	0
17	Satara	0	0	0	0	0	0
18	Solapur Rural	0	0	1	0	0	0
	Kolhapur Range	**4**	**0**	**28**	**2**	**7**	**0**
19	Bhandara	0	0	0	0	0	0
20	Chandrapur	0	0	0	0	9	0
21	Nagpur Rural	0	0	0	0	0	0
22	Wardha	0	0	0	0	0	0
	Nagpur Range	**0**	**0**	**0**	**0**	**9**	**0**
23	Gadchiroli	0	0	0	0	0	0
24	Gondia	0	0	0	1	0	0
	Gadchiroli Range	**0**	**0**	**0**	**1**	**0**	**0**
25	Ahmednagar	2	4	2	1	0	0
26	Dhule	0	0	0	0	0	0
27	Jalgaon	0	0	0	0	7	0
28	Nasik Rural	0	1	1	0	1	0
29	Nandurbar	0	0	1	0	0	0
	Nasik Range	**2**	**5**	**4**	**1**	**8**	**0**
30	Raigad	0	0	27	0	0	0
31	Ratnagiri	0	0	20	0	0	0
32	Sindhudurg	0	0	0	0	0	0
33	Thane Rural	0	0	7	0	0	0
34	Palghar	0	1	12	0	4	1
	Thane Range	**0**	**1**	**66**	**0**	**4**	**1**
35	Mumbai Railway	0	0	0	0	0	0
36	Pune Railway	0	0	0	0	0	0
37	Nagpur Railway	0	0	0	0	0	0
	Railway Range	**0**	**0**	**0**	**0**	**0**	**0**
38	Nagpur Commr.	0	0	0	0	0	0
39	Pune Commr.	2	10	42	0	0	0
40	Thane Commr.	0	1	0	2	0	0
41	Mumbai Commr.	8	0	478	10	0	0
42	Nasik Commr.	2	1	16	0	0	0
43	Aurangabad Commr.	3	0	1	0	0	0
44	Solapur Commr.	0	0	2	0	0	0
45	Navi Mumbai	0	0	29	1	5	0
46	Amravati Commr.	0	0	0	0	0	0
	Total Commrs.	**15**	**12**	**568**	**13**	**5**	**0**
	Total	**21**	**18**	**682**	**17**	**35**	**1**

तक्ता क्र. ९२ (इ) (चालू)

Table - 92(E) (Continued)

Sr.No	Unit	Fraud/Illegal Gain	Insult to modesty of Women	Sexual Exploitation	Political Motives	Inciting hate crimes against Community	Inciting hate crimes against Country	Disrupt Public Services	Sale/ Purchase of Illegal Drugs/Items
1	2	9	10	11	12	13	14	15	16
1	Akola	2	6	1	1	3	0	0	0
2	Amravati Rural	0	8	2	0	0	0	0	0
3	Buldhana	0	1	0	0	1	0	0	0
4	Yavatmal	0	1	1	0	0	0	0	0
5	Washim	0	3	1	0	0	0	0	0
	Amravati Range	**2**	**19**	**5**	**1**	**4**	**0**	**0**	**0**
6	Aurangabad Rural	2	5	1	0	2	0	0	0
7	Jalna	0	0	0	0	0	0	0	0
8	Beed	0	0	0	0	0	0	0	0
9	Osmanabad	0	1	1	0	0	0	0	0
	Aurangabad Range	**2**	**6**	**2**	**0**	**2**	**0**	**0**	**0**
10	Nanded	0	1	6	0	6	0	0	0
11	Latur	0	1	0	0	0	0	0	0
12	Parbhani	0	1	0	0	10	0	0	0
13	Hingoli	0	0	0	0	0	0	0	0
	Nanded Range	**0**	**3**	**6**	**0**	**16**	**0**	**0**	**0**
14	Kolhapur	0	2	1	0	0	0	0	0
15	Pune Rural	0	0	0	2	3	0	0	0
16	Sangli	2	4	15	0	1	0	0	0
17	Satara	8	6	0	0	0	0	0	0
18	Solapur Rural	1	2	1	0	0	0	0	0
	Kolhapur Range	**11**	**14**	**17**	**2**	**4**	**0**	**0**	**0**
19	Bhandara	0	3	0	0	0	0	0	0
20	Chandrapur	0	11	0	0	0	0	0	0
21	Nagpur Rural	0	0	0	0	0	0	0	0
22	Wardha	1	4	0	0	0	0	0	0
	Nagpur Range	**1**	**18**	**0**	**0**	**0**	**0**	**0**	**0**
23	Gadchiroli	0	1	0	0	0	0	0	0
24	Gondia	0	4	1	0	0	0	0	0
	Gadchiroli Range	**0**	**5**	**1**	**0**	**0**	**0**	**0**	**0**
25	Ahmednagar	0	1	0	0	0	0	0	0
26	Dhule	0	1	1	0	0	0	0	0
27	Jalgaon	0	7	0	0	0	0	0	0
28	Nasik Rural	0	2	0	0	3	0	1	0
29	Nandurbar	0	0	0	0	0	0	0	0
	Nasik Range	**0**	**11**	**1**	**0**	**3**	**0**	**1**	**0**
30	Raigad	4	12	0	0	0	0	0	0
31	Ratnagiri	3	1	0	0	0	0	0	0
32	Sindhudurg	2	0	1	0	0	0	0	0
33	Thane Rural	0	0	20	0	0	0	0	0
34	Palghar	7	5	4	0	0	0	0	0
	Thane Range	**16**	**18**	**25**	**0**	**0**	**0**	**0**	**0**
35	Mumbai Railway	0	1	0	0	0	0	0	0
36	Pune Railway	0	0	0	0	0	0	0	0
37	Nagpur Railway	0	0	0	0	0	0	0	0
	Railway Range	**0**	**1**	**0**	**0**	**0**	**0**	**0**	**0**
38	Nagpur Commr.	77	24	0	0	0	0	0	0
39	Pune Commr.	0	1	4	0	1	0	1	2
40	Thane Commr.	0	15	9	1	0	0	0	0
41	Mumbai Commr.	232	81	28	0	3	0	0	2
42	Nasik Commr.	1	7	3	0	1	0	0	0
43	Aurangabad Commr.	0	0	0	0	0	0	0	0
44	Solapur Commr.	0	2	9	0	4	0	0	0
45	Navi Mumbai	0	9	1	1	0	0	0	0
46	Amravati Commr.	12	0	2	0	1	0	0	0
	Total Commrs.	**322**	**139**	**56**	**2**	**10**	**0**	**1**	**4**
	Total	**354**	**234**	**113**	**5**	**39**	**0**	**2**	**4**

तक्ता क्र. ९२- (इ) (पूर्ण)

Table - 92 (E) (CONCLUDED)

Sr.No	Unit	For developing own Business/ Interest	For spreading Piracy	Serious Psychiatric Illness viz. perversion, etc	Steal Information for Espionage	Motives of Blackmailing	Others	Total (Items 1 to 19)
1	**2**	**17**	**18**	**19**	**20**	**21**	**22**	**23**
1	Akola	0	0	0	0	0	0	13
2	Amravati Rural	0	0	0	0	0	10	20
3	Buldhana	0	0	0	0	0	2	12
4	Yavatmal	0	0	0	0	0	11	13
5	Washim	0	0	0	0	0	4	8
	Amravati Range	**0**	**0**	**0**	**0**	**0**	**27**	**66**
6	Aurangabad Rural	0	0	0	0	0	0	18
7	Jalna	0	0	5	0	2	1	8
8	Beed	0	0	0	0	2	16	18
9	Osmanabad	0	0	0	0	0	1	4
	Aurangabad Range	**0**	**0**	**5**	**0**	**4**	**18**	**48**
10	Nanded	0	0	0	0	0	13	26
11	Latur	0	0	1	0	0	13	15
12	Parbhani	0	0	0	0	0	0	12
13	Hingoli	0	0	0	0	0	3	3
	Nanded Range	**0**	**0**	**1**	**0**	**0**	**29**	**56**
14	Kolhapur	0	0	0	0	0	1	9
15	Pune Rural	0	1	0	0	0	4	44
16	Sangli	0	0	0	0	1	1	25
17	Satara	0	0	0	0	0	9	23
18	Solapur Rural	0	0	0	0	0	1	6
	Kolhapur Range	**0**	**1**	**0**	**0**	**1**	**16**	**107**
19	Bhandara	0	0	0	0	0	3	6
20	Chandrapur	0	0	0	0	0	27	47
21	Nagpur Rural	0	0	0	0	0	13	13
22	Wardha	0	0	0	0	0	5	10
	Nagpur Range	**0**	**0**	**0**	**0**	**0**	**48**	**76**
23	Gadchiroli	0	0	0	0	0	5	6
24	Gondia	0	0	0	0	2	6	14
	Gadchiroli Range	**0**	**0**	**0**	**0**	**2**	**11**	**20**
25	Ahmednagar	0	0	0	0	1	5	16
26	Dhule	0	0	0	0	0	4	6
27	Jalgaon	0	0	0	0	0	3	17
28	Nasik Rural	0	0	0	0	0	0	9
29	Nandurbar	0	0	0	0	0	0	1
	Nasik Range	**0**	**0**	**0**	**0**	**1**	**12**	**49**
30	Raigad	8	0	0	0	0	0	51
31	Ratnagiri	0	0	0	0	0	8	32
32	Sindhudurg	0	0	0	0	0	2	5
33	Thane Rural	0	0	0	0	0	4	31
34	Palghar	0	0	0	0	0	1	35
	Thane Range	**8**	**0**	**0**	**0**	**0**	**15**	**154**
35	Mumbai Railway	0	0	0	0	0	0	1
36	Pune Railway	0	0	0	0	0	0	0
37	Nagpur Railway	0	0	0	0	0	0	0
	Railway Range	**0**	**0**	**0**	**0**	**0**	**0**	**1**
38	Nagpur Commr.	0	0	0	0	0	1	102
39	Pune Commr.	2	0	0	0	1	19	85
40	Thane Commr.	0	0	0	0	6	132	166
41	Mumbai Commr.	6	0	0	5	0	126	979
42	Nasik Commr.	1	0	0	0	0	0	32
43	Aurangabad Commr.	0	0	0	0	0	144	148
44	Solapur Commr.	0	0	0	0	0	9	26
45	Navi Mumbai	0	0	0	0	1	8	55
46	Amravati Commr.	0	0	0	0	0	10	25
	Total Commrs.	**9**	**0**	**0**	**5**	**8**	**449**	**1618**
	Total	**17**	**1**	**6**	**5**	**16**	**625**	**2195**

तक्ता क्र. ९२- (फ)

सन २०१५ मधील सायबर गुन्हयांशी सबंधीत अटक अथवा आरोपीत व्यक्तींची प्रोफाईलनुसार माहिती

Table - 92 (F)

Profile of persons arrested or accused in connection with Cyber Crime During 2015

Sr.No	Unit	Foreign National Total	Foreigner Sexual Freak	Foreigner Cracker or Hacker	Foreigner Cyber Terrorist	Foreigner Others	Indian National - Total
1	**2**	**3**	**4**	**5**	**6**	**7**	**8**
1	Akola	0	0	0	0	0	13
2	Amravati Rural	0	0	0	0	0	7
3	Buldhana	0	0	0	0	0	8
4	Yavatmal	0	0	0	0	0	25
5	Washim	0	0	0	0	0	6
	Amravati Range	**0**	**0**	**0**	**0**	**0**	**59**
6	Aurangabad Rural	0	0	0	0	0	7
7	Jalna	0	0	0	0	0	8
8	Beed	0	0	0	0	0	9
9	Osmanabad	0	0	0	0	0	7
	Aurangabad Range	**0**	**0**	**0**	**0**	**0**	**31**
10	Nanded	0	0	0	0	0	43
11	Latur	0	0	0	0	0	6
12	Parbhani	0	0	0	0	0	13
13	Hingoli	0	0	0	0	0	3
	Nanded Range	**0**	**0**	**0**	**0**	**0**	**65**
14	Kolhapur	0	0	0	0	0	9
15	Pune Rural	0	0	0	0	0	10
16	Sangli	0	0	0	0	0	26
17	Satara	0	0	0	0	0	7
18	Solapur Rural	0	0	0	0	0	14
	Kolhapur Range	**0**	**0**	**0**	**0**	**0**	**66**
19	Bhandara	0	0	0	0	0	5
20	Chandrapur	0	0	0	0	0	32
21	Nagpur Rural	0	0	0	0	0	5
22	Wardha	0	0	0	0	0	0
	Nagpur Range	**0**	**0**	**0**	**0**	**0**	**42**
23	Gadchiroli	0	0	0	0	0	6
24	Gondia	0	0	0	0	0	13
	Gadchiroli Range	**0**	**0**	**0**	**0**	**0**	**19**
25	Ahmednagar	0	0	0	0	0	12
26	Dhule	0	0	0	0	0	4
27	Jalgaon	0	0	0	0	0	27
28	Nasik Rural	0	0	0	0	0	11
29	Nandurbar	0	0	0	0	0	0
	Nasik Range	**0**	**0**	**0**	**0**	**0**	**54**
30	Raigad	0	0	0	0	0	12
31	Ratnagiri	0	0	0	0	0	4
32	Sindhudurg	0	0	0	0	0	4
33	Thane Rural	0	0	0	0	0	5
34	Palghar	0	0	0	0	0	14
	Thane Range	**0**	**0**	**0**	**0**	**0**	**39**
35	Mumbai Railway	0	0	0	0	0	0
36	Pune Railway	0	0	0	0	0	0
37	Nagpur Railway	0	0	0	0	0	0
	Railway Range	**0**	**0**	**0**	**0**	**0**	**0**
38	Nagpur Commr.	0	0	0	0	0	31
39	Pune Commr.	0	0	0	0	0	66
40	Thane Commr.	0	0	0	0	0	83
41	Mumbai Commr.	0	0	0	0	0	121
42	Nasik Commr.	0	0	0	0	0	14
43	Aurangabad Commr.	0	0	0	0	0	46
44	Solapur Commr.	0	0	0	0	0	25
45	Navi Mumbai	0	0	0	0	0	56
46	Amravati Commr.	0	0	0	0	0	8
	Total Commrs.	**0**	**0**	**0**	**0**	**0**	**450**
	Total	**0**	**0**	**0**	**0**	**0**	**825**

तक्ता क्र. ९२- (फ) (चालू)

Table - 92 (F) (Continued)

Sr.No	Unit	Indian Employee	Indian Business Competitor	Indian Neibours Friends Relatives	Indian Sexual Freak	Indian Student	Indian Cyber Terrorist
1	2	9	10	11	12	13	14
1	Akola	0	0	0	7	0	0
2	Amravati Rural	0	0	2	0	5	0
3	Buldhana	0	0	0	0	0	0
4	Yavatmal	0	4	1	0	1	0
5	Washim	0	0	0	0	0	0
	Amravati Range	**0**	**4**	**3**	**7**	**6**	**0**
6	Aurangabad Rural	0	0	0	0	0	0
7	Jalna	0	0	0	3	4	0
8	Beed	0	0	0	0	0	0
9	Osmanabad	0	0	1	0	0	0
	Aurangabad Range	**0**	**0**	**1**	**3**	**4**	**0**
10	Nanded	0	0	0	16	0	0
11	Latur	0	0	0	0	0	0
12	Parbhani	0	0	1	0	0	0
13	Hingoli	0	0	0	0	0	0
	Nanded Range	**0**	**0**	**1**	**16**	**0**	**0**
14	Kolhapur	0	0	1	0	0	0
15	Pune Rural	1	0	1	0	2	0
16	Sangli	0	2	12	6	4	0
17	Satara	0	0	0	0	0	0
18	Solapur Rural	0	4	8	1	0	0
	Kolhapur Range	**1**	**6**	**22**	**7**	**6**	**0**
19	Bhandara	0	0	0	0	0	0
20	Chandrapur	0	0	5	0	6	0
21	Nagpur Rural	0	0	0	0	0	0
22	Wardha	0	0	0	0	0	0
	Nagpur Range	**0**	**0**	**5**	**0**	**6**	**0**
23	Gadchiroli	0	0	0	0	1	0
24	Gondia	0	0	0	8	0	0
	Gadchiroli Range	**0**	**0**	**0**	**8**	**1**	**0**
25	Ahmednagar	0	0	7	0	0	0
26	Dhule	0	0	0	0	0	0
27	Jalgaon	0	0	17	2	0	0
28	Nasik Rural	1	3	2	0	0	0
29	Nandurbar	0	0	0	0	0	0
	Nasik Range	**1**	**3**	**26**	**2**	**0**	**0**
30	Raigad	0	0	9	0	3	0
31	Ratnagiri	0	0	0	2	2	0
32	Sindhudurg	0	0	0	2	0	0
33	Thane Rural	0	0	0	4	0	0
34	Palghar	0	0	11	1	0	0
	Thane Range	**0**	**0**	**20**	**9**	**5**	**0**
35	Mumbai Railway	0	0	0	0	0	0
36	Pune Railway	0	0	0	0	0	0
37	Nagpur Railway	0	0	0	0	0	0
	Railway Range	**0**	**0**	**0**	**0**	**0**	**0**
38	Nagpur Commr.	0	0	23	2	4	0
39	Pune Commr.	0	0	0	0	0	0
40	Thane Commr.	0	0	20	0	0	0
41	Mumbai Commr.	16	0	31	38	6	0
42	Nasik Commr.	0	0	3	0	0	0
43	Aurangabad Commr.	0	0	0	11	0	0
44	Solapur Commr.	0	0	14	0	0	0
45	Navi Mumbai	1	1	0	0	2	0
46	Amravati Commr.	0	0	0	0	0	0
	Total Commrs.	**17**	**1**	**91**	**51**	**12**	**0**
	Total	**19**	**14**	**169**	**103**	**40**	**0**

तक्ता क्र. ९२ (फ) (पूर्ण)

Table - 92 (F) (CONCLUDED)

Sr.No	Unit	Indian Psycho Person	Computer Professional Hacker Cracker	Indian Political Person	Indian Religious Person	Indian Others	Total
1	**2**	**15**	**16**	**17**	**18**	**19**	**20**
1	Akola	0	0	1	3	2	13
2	Amravati Rural	0	0	0	0	0	7
3	Buldhana	0	0	0	0	8	8
4	Yavatmal	0	0	0	0	19	25
5	Washim	0	0	0	0	6	6
	Amravati Range	**0**	**0**	**1**	**3**	**35**	**59**
6	Aurangabad Rural	0	0	0	0	7	7
7	Jalna	0	0	0	1	0	8
8	Beed	0	0	0	0	9	9
9	Osmanabad	0	0	0	0	6	7
	Aurangabad Range	**0**	**0**	**0**	**1**	**22**	**31**
10	Nanded	0	0	0	6	21	43
11	Latur	0	0	0	0	6	6
12	Parbhani	0	0	0	8	4	13
13	Hingoli	0	0	0	0	3	3
	Nanded Range	**0**	**0**	**0**	**14**	**34**	**65**
14	Kolhapur	0	0	0	0	8	9
15	Pune Rural	0	0	0	6	0	10
16	Sangli	0	0	0	0	2	26
17	Satara	0	0	0	0	7	7
18	Solapur Rural	0	0	0	0	1	14
	Kolhapur Range	**0**	**0**	**0**	**6**	**18**	**66**
19	Bhandara	0	0	0	0	5	5
20	Chandrapur	0	0	0	0	21	32
21	Nagpur Rural	0	0	0	0	5	5
22	Wardha	0	0	0	0	0	0
	Nagpur Range	**0**	**0**	**0**	**0**	**31**	**42**
23	Gadchiroli	0	0	0	0	5	6
24	Gondia	0	1	0	0	4	13
	Gadchiroli Range	**0**	**1**	**0**	**0**	**9**	**19**
25	Ahmednagar	0	0	0	0	5	12
26	Dhule	0	0	0	0	4	4
27	Jalgaon	0	0	4	0	4	27
28	Nasik Rural	0	0	2	1	2	11
29	Nandurbar	0	0	0	0	0	0
	Nasik Range	**0**	**0**	**6**	**1**	**15**	**54**
30	Raigad	0	0	0	0	0	12
31	Ratnagiri	0	0	0	0	0	4
32	Sindhudurg	0	0	0	0	2	4
33	Thane Rural	0	0	0	0	1	5
34	Palghar	0	0	0	0	2	14
	Thane Range	**0**	**0**	**0**	**0**	**5**	**39**
35	Mumbai Railway	0	0	0	0	0	0
36	Pune Railway	0	0	0	0	0	0
37	Nagpur Railway	0	0	0	0	0	0
	Railway Range	**0**	**0**	**0**	**0**	**0**	**0**
38	Nagpur Commr.	0	2	0	0	0	31
39	Pune Commr.	0	0	0	0	66	66
40	Thane Commr.	0	0	0	0	63	83
41	Mumbai Commr.	0	30	0	0	0	121
42	Nasik Commr.	0	1	0	0	10	14
43	Aurangabad Commr.	0	0	0	0	35	46
44	Solapur Commr.	0	0	0	4	7	25
45	Navi Mumbai	0	0	0	13	39	56
46	Amravati Commr.	0	0	0	0	8	8
	Total Commrs.	**0**	**33**	**0**	**17**	**228**	**450**
	Total	**0**	**34**	**7**	**42**	**397**	**825**

प्रकरण - १८

विविध कायद्यांनुसार स्थानबध्दतेची कारवाई

सन २०१५ मध्ये राष्ट्रीय सुरक्षा कायदा, महाराष्ट्र राज्य झोपडपट्टी दादा, हातभट्टीवाले, औषधी द्रव्य विषयक गुन्हेगार व धोकादायक व्यक्ती यांचे विघातक कृत्यांना आळा घालण्याचा कायदा १९८१, महाराष्ट्र संघटित गुन्हेगारी नियत्रंण कायदा १९९९ व दहशतवाद प्रतिबंधक कायद्यान्वये केलेली कारवाई याची माहिती खालील परिच्छोमध्ये विशद केली आहे.

१) राष्ट्रीय सुरक्षा कायदा १९८० अन्वये कारवाई

सन २०१४ व सन २०१५ मध्ये या कायद्यान्वये कारवाई करण्यात आलेली नाही.

२) महाराष्ट्र झोपडपट्टी दादा, हातभट्टीवाले, औषधी द्रव्य विषयक गुन्हेगार व धोकादायक व्यक्ती यांचे विघातक कृत्यांना आळा घालण्याचा कायदा १९८१.

सन २०१५ मध्ये या कायद्यान्वये ७५ इसमांवर स्थानबध्दतेची कारवाई करण्यात आलेली आहे, तर सन २०१४ साली या कायद्यान्वये ३८ इसमांवर कारवाई करण्यात आलेली होती. सन २०१४ च्या मानाने सन २०१५ मध्ये कारवाईत ९७.३७% ने वाढ झाली आहे.

सन २०१५ मध्ये या कायद्यान्वये सर्वात जास्त नागपूर शहरात ३८ व पुणे शहरात १२ इसमांना स्थानबध्द करण्यात आले असून, राज्याच्या तुलनेत नागपूर शहर व पुणे शहराचा वाटा ६६.६७% आहे. नागपूर शहर व पुणे शहर यांच्या पाठोपाठ मुंबई शहर (६), सोलापूर शहर (६) ठाणे शहर व औंरगाबाद शहर (३) प्रत्येकी व्यक्तींना या कायद्यान्वये स्थानबध्द करण्यात आले.

राष्ट्रीय सुरक्षा कायदा व महाराष्ट्र झोपडपट्टी दादा, हातभट्टीवाले, औषधी द्रव्य विषयक गुन्हेगार व धोकादायक व्यक्ती यांच्या विघातक कृत्यांना आळा घालण्याचा कायदा हया अंतर्गत करण्यात आलेल्या कारवाईची घटक-निहाय माहिती तक्ता क्रमांक ९३ मध्ये दर्शविण्यात आली आहे.

३) महाराष्ट्र संघटित गुन्हेगारी नियत्रंण कायदा सन १९९९

महाराष्ट्र राज्यात सन २०१५ मध्ये या कायद्यातंर्गत ४६५ इसमांना अटक करण्यात आली. तर सन २०१४ मध्ये ४७६ इसमांना अटक करण्यात आली होती. सन २०१४ च्या तुलनेने सन २०१५ मध्ये सदर कारवाईत २.३१ % ने घट झाली आहे.

महाराष्ट्र राज्यात या कायद्यान्वये पुणे शहर सर्वात जास्त (११७) इसमांना, त्याखालोखाल पुणे ग्रामीण (८४), नागपूर शहर (५२) व मुंबई शहर (४४) या प्रमाणे इसमांना अटक करण्यात आलेली आहे.

४) दहशतवाद प्रतिबंधक कायदा

दिनांक २१/०९/२००४ पासून दहशतवाद प्रतिबंधक कायदा रद्द करण्यात आलेला आहे. त्यामुळे २०१५ मध्ये या कायद्यांतर्गत एकही गुन्हा दाखल झालेला नाही.

महाराष्ट्र संघटित गुन्हेगारी नियंत्रण व दहशतवाद प्रतिबंधक कायद्यांतर्गत करण्यात आलेल्या स्थानबध्दतेची घटक-निहाय माहिती तक्ता क्रं. ९४ मध्ये दर्शविण्यात आली आहे.

Chapter -18

Detention Under Various Acts

Action Taken Under National Security Act, Maharashtra Prevention Of Dangerous Activities Of Slum-Lords, Bootleggers And Drug Offenders Act 1981, Maharashtra Control Of Organized Crime Act 1999 And Prevention Of Terrorist Activities Act during the Year 2015 is described as below.

1) Action Taken Under National Security Act 1980

There were no detentions in Maharashtra under N.S.A. during the years 2014 and 2015.

2) Maharashtra Prevention Of Dangerous Activities Of Slum-Lords, Bootleggers And Drug Offenders Act 1981

During 2015, 75 persons have been detained under this Act whereas action has been taken against 38 persons in 2014. Thus, there is a increase by 97.37% during 2015 as compared to 2014.

During 2015, highest number of detentions have been made in Nagpur (C) (38) followed by Pune (C) (12) under this Act, which constitutes 66.67% share of the detentions made in the State. In other units cases under MPDA Act are Mumbai (C) (6), Solapur (C) (6), Thane (C) and A'bad(C) (3) each.

Unit-wise details of the detentions made under N.S.A. and M.P.D.A have been shown in the Table No. 93.

3) MAHARASHTRA CONTROL OF ORGANISED CRIME ACT 1999

Under M.C.O.C. Act 465 persons have been arrested during the year 2015 as compared to 476 during 2014. Thus, there is a decrease by 2.31% during 2015 as compared to the year 2014.

The highest number of persons arrested under this act were in Pune (C) (117) followed by Pune(R) (84), Nagpur (C) (52) and Mumbai (C) (44).

4) Prevention Of Terrorist Activities Act

POTA has been repealed since 21/09/2004 hence no case has been registered under this act during the year 2015.

Unit-wise details of detention made under M.C.O.C.A. & POTA are shown in Table No.94.

तक्ता क्र. ९३

राष्ट्रीय सुरक्षा कायदा, महाराष्ट्र राज्य झोपडपट्टी दादा, हातभट्टीवाले, औषधी द्रव्ये विषयक गुन्हेगार व धोकादायक व्यक्ती यांचे विघातक कृत्यांना आळा घालण्याच्या कायद्यांतर्गत स्थानबध्दतेची २०१४ व २०१५ ची माहिती

TABLE NO. 93

Detentions Under N.S.A. & M.P.D.A. Act - 2014 And 2015

SR. NO.	Unit	Number Of Offences In Which N.S.A. Sections Have Been Applied	Number Of Persons Arrested Under N.S.A.	Number Of Offences In Which N.S.A. Section Applied	Number Of Persons Arrested Under N.S.A.	Number Of Persons Ordered To Be Detained Under M.P.D.A. 1981	Number Of Persons Detained Under M.P.D.A. 1981	Number Of Persons Ordered To Be Detained Under M.P.D.A. 1981	Number Of Persons Detained Under M.P.D.A. 1981
		2014	2014	2015	2015	2014	2014	2015	2015
1	Akola	0	0	0	0	0	0	0	0
2	Amravati (R)	0	0	0	0	0	0	0	0
3	Buldhana	0	0	0	0	0	0	0	0
4	Yavatmal	0	0	0	0	0	0	0	0
5	Washim	0	0	0	0	0	0	0	0
*	**Amravati Range**	**0**	**0**	**0**	**0**	**0**	**0**	**0**	**0**
6	A'bad(R)	0	0	0	0	0	0	0	0
7	Jalna	0	0	0	0	0	0	0	0
8	Beed	0	0	0	0	0	0	0	0
9	Osmanabad	0	0	0	0	0	0	0	0
*	**A'bad Range**	**0**	**0**	**0**	**0**	**0**	**0**	**0**	**0**
10	Nanded	0	0	0	0	0	0	0	0
11	Latur	0	0	0	0	0	0	0	0
12	Parbhani	0	0	0	0	1	1	0	0
13	Hingoli	0	0	0	0	0	0	0	0
*	**Nanded Range**	**0**	**0**	**0**	**0**	**1**	**1**	**0**	**0**
14	Kolhapur	0	0	0	0	0	0	0	0
15	Pune (R)	0	0	0	0	0	0	0	0
16	Sangli	0	0	0	0	2	1	0	0
17	Satara	0	0	0	0	0	0	0	0
18	Solapur (R)	0	0	0	0	0	0	0	0
*	**Kolhapur Range**	**0**	**0**	**0**	**0**	**2**	**1**	**0**	**0**
19	Bhandara	0	0	0	0	0	0	0	0
20	Chandrapur	0	0	0	0	0	0	0	0
21	Nagpur (R)	0	0	0	0	0	0	0	0
22	Wardha	0	0	0	0	0	0	1	1
*	**Nagpur Range**	**0**	**0**	**0**	**0**	**0**	**0**	**1**	**1**
23	Gadchiroli	0	0	0	0	0	0	0	0
24	Gondia	0	0	0	0	0	0	0	0
*	**Gadchiroli Range**	**0**	**0**	**0**	**0**	**0**	**0**	**0**	**0**
25	Ahmednagar	0	0	0	0	0	0	0	0
26	Dhule	0	0	0	0	0	0	0	0
27	Jalgaon	0	0	0	0	4	3	1	1
28	Nasik (R)	0	0	0	0	0	0	0	0
29	Nandurbar	0	0	0	0	0	0	0	0
*	**Nasik Range**	**0**	**0**	**0**	**0**	**4**	**3**	**1**	**1**
30	Raigad	0	0	0	0	0	0	0	0
31	Ratnagiri	0	0	0	0	0	0	1	1
32	Sindhudurg	0	0	0	0	0	0	1	1
33	Thane (R)	0	0	0	0	0	0	2	2
34	Palghar	0	0	0	0	0	0	0	0
*	**Thane Range**	**0**	**0**	**0**	**0**	**0**	**0**	**4**	**4**
35	Mumbai Rly	0	0	0	0	0	0	0	0
36	Pune Rly	0	0	0	0	0	0	0	0
37	Nagpur Rly	0	0	0	0	0	0	0	0
*	**Railways Range**	**0**	**0**	**0**	**0**	**0**	**0**	**0**	**0**
38	Nagpur (C)	0	0	0	0	11	11	38	38
39	Pune (C)	0	0	0	0	11	11	12	12
40	Thane (C)	0	0	0	0	0	0	3	3
41	Mumbai (C)	0	0	0	0	6	6	6	6
42	Nasik (C)	0	0	0	0	0	0	0	0
43	A'bad (C)	0	0	0	0	2	2	3	3
44	Solapur (C)	0	0	0	0	0	0	6	6
45	Navi Mumbai (C)	0	0	0	0	2	2	0	0
46	Amravati (C)	0	0	0	0	1	1	1	1
*	**Total Commrs.**	**0**	**0**	**0**	**0**	**33**	**33**	**69**	**69**
**	**Total of M.S.**	**0**	**0**	**0**	**0**	**40**	**38**	**75**	**75**

तक्ता क्र. ९४

महाराष्ट्र संघटित गुन्हेगारी नियंत्रण कायदा सन १९९९ व दहशतवाद प्रतिबंधक कायद्यांतर्गत स्थानबध्दतेची २०१४ व २०१५ ची माहिती.

TABLE NO. 94

Detentions Under M.C.O.C.A. And P.O.T.A. - 2014 And 2015

SR. NO.	Unit	Number Of Offences In Which M.C.O.C.A. Sections Have Been Applied	Number Of Persons Arrested Under M.C.O.C.A.	Number Of Offences In Which M.C.O.C.A. Sections Have Been Applied	Number Of Persons Arrested Under M.C.O.C.A.	Number Of Offences In Which P.O.T.A. Sections Have Been Applied	Number Of Persons Arrested Under P.O.T.A.	Number Of Offences In Which P.O.T.A. Sections Have Been Applied	Number Of Persons Arrested Under P.O.T.A.
		2014	2014	2015	2015	2014	2014	2015	2015
1	Akola	1	6	1	4	0	0	0	0
2	Amravati (R)	0	0	0	0	0	0	0	0
3	Buldhana	1	5	0	0	0	0	0	0
4	Yavatmal	0	0	0	0	0	0	0	0
5	Washim	0	0	0	0	0	0	0	0
*	**Amravati Range**	**2**	**11**	**1**	**4**	**0**	**0**	**0**	**0**
6	A'bad (R)	1	5	0	0	0	0	0	0
7	Jalna	0	0	0	0	0	0	0	0
8	Beed	1	2	0	0	0	0	0	0
9	Osmanabad	3	24	1	2	0	0	0	0
*	**A'bad Range**	**5**	**31**	**1**	**2**	**0**	**0**	**0**	**0**
10	Nanded	1	6	0	0	0	0	0	0
11	Latur	0	0	2	16	0	0	0	0
12	Parbhani	0	0	0	0	0	0	0	0
13	Hingoli	0	0	0	0	0	0	0	0
*	**Nanded Range**	**1**	**6**	**2**	**16**	**0**	**0**	**0**	**0**
14	Kolhapur	0	0	0	0	0	0	0	0
15	Pune (R)	13	75	13	84	0	0	0	0
16	Sangli	1	5	2	13	0	0	0	0
17	Satara	3	5	1	7	0	0	0	0
18	Solapur (R)	2	16	1	3	0	0	0	0
*	**Kolhapur Range**	**19**	**101**	**17**	**107**	**0**	**0**	**0**	**0**
19	Bhandara	0	0	0	0	0	0	0	0
20	Chandrapur	1	4	1	2	0	0	0	0
22	Nagpur (R)	2	16	0	0	0	0	0	0
23	Wardha	0	0	0	0	0	0	0	0
*	**Nagpur Range**	**3**	**20**	**1**	**2**	**0**	**0**	**0**	**0**
21	Gadchiroli	0	0	0	0	0	0	0	0
24	Gondia	0	0	1	7	0	0	0	0
*	**Gadchiroli Range**	**0**	**0**	**1**	**7**	**0**	**0**	**0**	**0**
25	Ahmednagar	2	30	3	12	0	0	0	0
26	Dhule	3	21	1	5	0	0	0	0
27	Jalgaon	1	2	0	0	0	0	0	0
28	Nasik (R)	2	10	1	8	0	0	0	0
29	Nandurbar	0	0	0	0	0	0	0	0
*	**Nasik Range**	**8**	**63**	**5**	**25**	**0**	**0**	**0**	**0**
30	Raigad	1	11	1	12	0	0	0	0
31	Ratnagiri	0	0	0	0	0	0	0	0
32	Sindhudurg	0	0	0	0	0	0	0	0
33	Thane (R)	0	0	2	8	0	0	0	0
34	Palghar	0	0	2	8	0	0	0	0
*	**Thane Range**	**1**	**11**	**5**	**28**	**0**	**0**	**0**	**0**
35	Mumbai Rly	0	0	1	4	0	0	0	0
36	Pune Rly	0	0	1	1	0	0	0	0
37	Nagpur Rly	0	0	0	0	0	0	0	0
*	**Railways Range**	**0**	**0**	**2**	**5**	**0**	**0**	**0**	**0**
38	Nagpur (C)	3	23	9	52	0	0	0	0
39	Pune (C)	5	47	17	117	0	0	0	0
40	Thane (C)	2	15	2	13	0	0	0	0
41	Mumbai (C)	16	104	10	44	0	0	0	0
42	Nasik (C)	2	39	0	0	0	0	0	0
43	A'bad (C)	0	0	6	29	0	0	0	0
44	Solapur (C)	0	0	0	0	0	0	0	0
45	Navi Mumbai (C)	2	5	4	14	0	0	0	0
46	Amravati (C)	0	0	0	0	0	0	0	0
*	**Total Commrs.**	**30**	**233**	**48**	**269**	**0**	**0**	**0**	**0**
**	**Total of M.S.**	**69**	**476**	**83**	**465**	**0**	**0**	**0**	**0**

प्रकरण - १९

पोलीस संख्याबळ

१९.१.१. पोलीस दलाचे प्रमुख कर्तव्य म्हणजे कायदा व सुव्यवस्था राखणे, गुन्हे उघडकीस आणणे व त्यांस आळा घालणे आणि वाहतुकीचे नियंत्रण करणे होय. गुन्हेगारी व तिचे प्रमाण, त्या भागातील लोकसंख्या, त्या भागाचे क्षेत्रफळ, या सर्व गोष्टी नजरेसमोर ठेवून पोलीस दलाच्या संख्याबळाचा विचार करावा लागतो.

यातील तक्ता क्र. ९५ मध्ये महाराष्ट्र राज्यातील वेगवेगळे जिल्हे, आयुक्तालये, वेगवेगळे विभाग व शाखा यात असणाऱ्या पोलीस दलातील हुद्यानुसार दि. ३१/१२/२०१५ चे मंजूर संख्याबळ दर्शविले आहे. पोलीस महासंचालक ते पोलीस शिपाई असे एकूण २१३९६० एवढे मंजूर संख्याबळ आहे. तसेच तक्ता क्र. ९६ मध्ये राज्याचे प्रत्यक्ष पोलीस संख्याबळ दर्शविण्यात आले आहे. पोलीस महासंचालक ते पोलीस शिपाई असे सर्व मिळून राज्यात १९९९३९ इतके प्रत्यक्ष पोलीस संख्याबळ आहे.

राज्याचे प्रत्यक्ष पोलीस संख्याबळाचे क्षेत्रफळ, लोकसंख्या व गुन्हयांशी तुलनात्मक विश्लेषण खालीलप्रमाणे केले आहे.

मुलकी पोलीस

१९.२.१ राज्यातील एकूण प्रत्यक्ष पोलीस संख्याबळापैकी मुलकी पोलीस बलाची संख्या १८५००७ एवढी आहे. यामध्ये बिनतारी संदेश विभागातील अधिकारी व कर्मचारी यांचा समावेश आहे.

हत्यारी पोलीस

१९.३.१ हत्यारी पोलीस दलाची एकूण १६ राज्य राखीव पोलीस बल गटामध्ये विभागणी करण्यात आली आहे, त्याकरिता स्वतंत्र अधिकारी व कर्मचारी तैनात करण्यात आले आहेत. प्रत्यक्ष अधिकारी व कर्मचारी यांचे एकूण संख्याबळ १४९३२ इतके आहे. त्यातील अधिकारी (पोलीस उप निरीक्षक व त्यावरील) व कर्मचारी (पोलीस शिपाई ते सहा. पोलीस उप निरीक्षक) यांचे प्रमाण १:७० एवढे आहे.

महिला पोलीस

१९.४.१ तक्ता क्र. ९७ मध्ये महिला पोलिसांचे प्रत्यक्ष संख्याबळ दर्शविले आहे. एकूण पोलीस संख्याबळापैकी महिला पोलिसांची संख्या २५३९० (१२.७० %) एवढी आहे. तसेच महिला पोलीस अधिकारी आणि महिला पोलीस कर्मचा-यांचे प्रमाण १:१३ एवढे आहे.

CHAPTER – 19

POLICE STRENGTH

19.1.1 The main functions of the police force are to maintain Law and Order, prevent and detect crime and regulate traffic. The strength of the police force has to be viewed in relation to the area, the population and the crime rate.

Table No. 95 shows information on sanctioned police strength (rank-wise) in the Districts, Commissionerates and other branches of police force in the State as on 31/12/2015. Total sanctioned police strength from Director General of Police to Police Constable is 213960. Similarly actual police strength of the State is shown in Table No. 96. Total actual police strength from Director General of Police to Police Constable is 199939.

Comparison of the actual police strength of the State with area, population & crime is explained below.

Civil Police

19.2.1 Out of actual police strength, the civil police force is 185007 in the State. The officers & men of wireless department have been included in this strength.

Armed Police

19.3.1 The Armed Police Force is divided into 16 Groups of the State Reserve Police Force. There are separate officers and men allotted to this force, which numbers 14932 The ratio of the officers (PSI and above) to men (P.C./P.N./H.C./A.S.I.) is 1:70.

Women Police

19.4.1 Table No. 97 provides information on actual strength of women police. The total strength of women in the police force is 25390, i.e (12.70 %) of total sanctioned police strength. The ratio of women police officers to women police is 1:13.

क्षेत्रफळ व लोकसंख्येबरोबरचे पोलीस दलाचे प्रमाण

१९.५.१ तक्ता क्र. ९८ मध्ये सन २०१५ मधील क्षेत्रफळ, लोकसंख्या यांच्या तुलनेने पोलीसांचे प्रत्यक्ष संख्याबळ या बाबतची माहिती देण्यात आली आहे.

१९.५.२. महाराष्ट्राचे क्षेत्रफळ ३,०७,७१३ चौ.कि.मी. एवढे आहे व प्रत्यक्ष पोलीस संख्याबळ १९९९३९ एवढे आहे. म्हणजेच प्रत्येक १०० चौ.कि.मी. मागे ६५ पोलीस असे प्रमाण आहे.

१९.५.३ महाराष्ट्राची सन २०१५ ची अंदाजीत लोकसंख्या ११९१.४३ लाख एवढी आहे व प्रत्यक्ष पोलीस संख्याबळ १९९९३९ एवढे आहे. म्हणजेच हे प्रमाण प्रत्येक १,००,००० लोकसंख्येसाठी १६८ पोलीस असे आहे.

Ratio of the Police to area and population

19.5.1 Table No. 98 shows information regarding actual police strength in relation to area and population during 2015.

19.5.2 The total area of the Maharashtra State is 3,07,713 Sqr. Kms. and the total actual police strength is 199939 The number of policemen per 100 Sqr. Kms. is 65.

19.5.3 The total provisional population for the year 2015 of the Maharashtra State is 1191.43 lakh and the actual police strength is 199939. The ratio of the policemen per 1,00,000 population is 168.

तपासी अधिका-यावरील तपास कामाचा भार (भा.दं.वि.)

१९.६.१ गुन्हयांचा तपास सर्वसाधारणपणे पोलीस निरीक्षक ते पोलीस नाईक यांच्या मार्फत केला जातो परंतु लाचलुचपत प्रतिबंधक विभाग, गुन्हे अन्वेषण विभाग महाराष्ट्र राज्य व नागरी हक्क संरक्षण विभाग या विभागांकडील गुन्हयांचा तपास पोलीस उप अधीक्षक व त्यावरील वरिष्ठ अधिकाऱ्याकडून केला जातो, तपासी अधिका-यांचे एकूण संख्याबळ 112639 इतके आहे.

सन २०१५ मध्ये, २७५४१४ भा.दं.वि. गुन्हयांच्या तपासाचे काम पोलीस तपासी अधिकाऱ्यांकडून केले गेले. प्रत्येक तपासी अधिकाऱ्यावरील तपासकामाचा भार लक्षात घेता हे प्रमाण प्रत्येकी २.४५ भा.दं.वि. गुन्हे असे आहे.

Work load per investigation officer (IPC)

19.6.1 The investigation of offences is normally done by Police Inspector to Police Naik but in the Anti Corruption Bureau, C.I.D. Maharashtra State and P.C.R. Department, investigation is carried out by Dy.S.P. and senior level officers. The total strength of Investigating Officers is 112639.

During the year 2015, 275414 IPC cases are registered and it have been investigated by the police investigating officers. The average work load per I.O. is therefore 2.45 IPC cases.

आलेख क्र. १९.१

सन २०१५ मध्ये जिल्हा/आयुक्तालय-निहाय प्रत्येक तपासी अधिका-याकडील भा.दं.वि. गुन्हयांच्या तपासाचा भार

District/Commissionerate-Wise Work Load Of IPC Cases Per I.O. During 2015

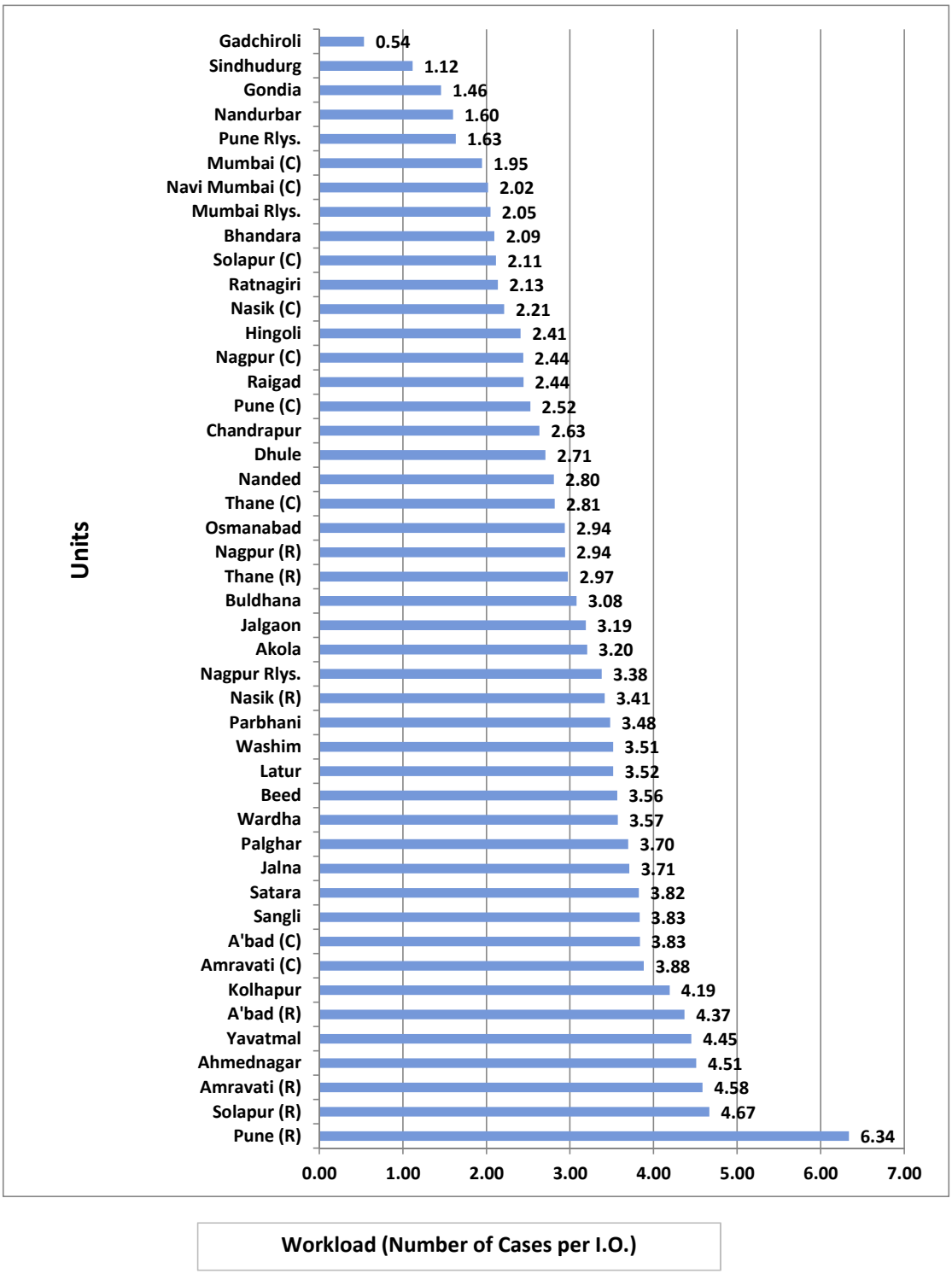

विशेष व स्थानिक कायद्याखालील गुन्हे

१९.६.२ सन २०१५ मध्ये दाखल झालेल्या व मागील वर्षीतपासावर प्रलंबित अ सलेल्या एकूण १४७७६६ विशेष व स्थानिक कायद्याखालील गुन्हयांच्या तपासाचे काम पोलीस तपासी अधिका-यांकडून केले गेले अ हेतपासी अ धिकारीव गुन्हयाचे प्रमाण हे प्रत्येक तपासी अ धिकाऱ्यांचेकडे 1.31 विशेष व स्थानिक कायद्याखालील गुन्हे असे आहे.(आलेख १९.२ प्रमाणे)

S.L.L. Cases

19.6.2 During the year 2015, 147766 SLL Cases (including pending cases from prev ious year) have been investigated by the investigating police officers. The average work load is therefore 1.31 SLL cases per Investigating officer.(chart 19.2)

आलेख क्र. १९.२

सन २०१५ करिता जिल्हा/आयुक्तालय-निहाय तपासी अधिका-याकडील विशेष व स्थानिक कायद्याखालील गुन्हयाचा तपासाचा भार

District/Commissionerate-Wise Work Load Of SLL Cases Per I.O. During 2015

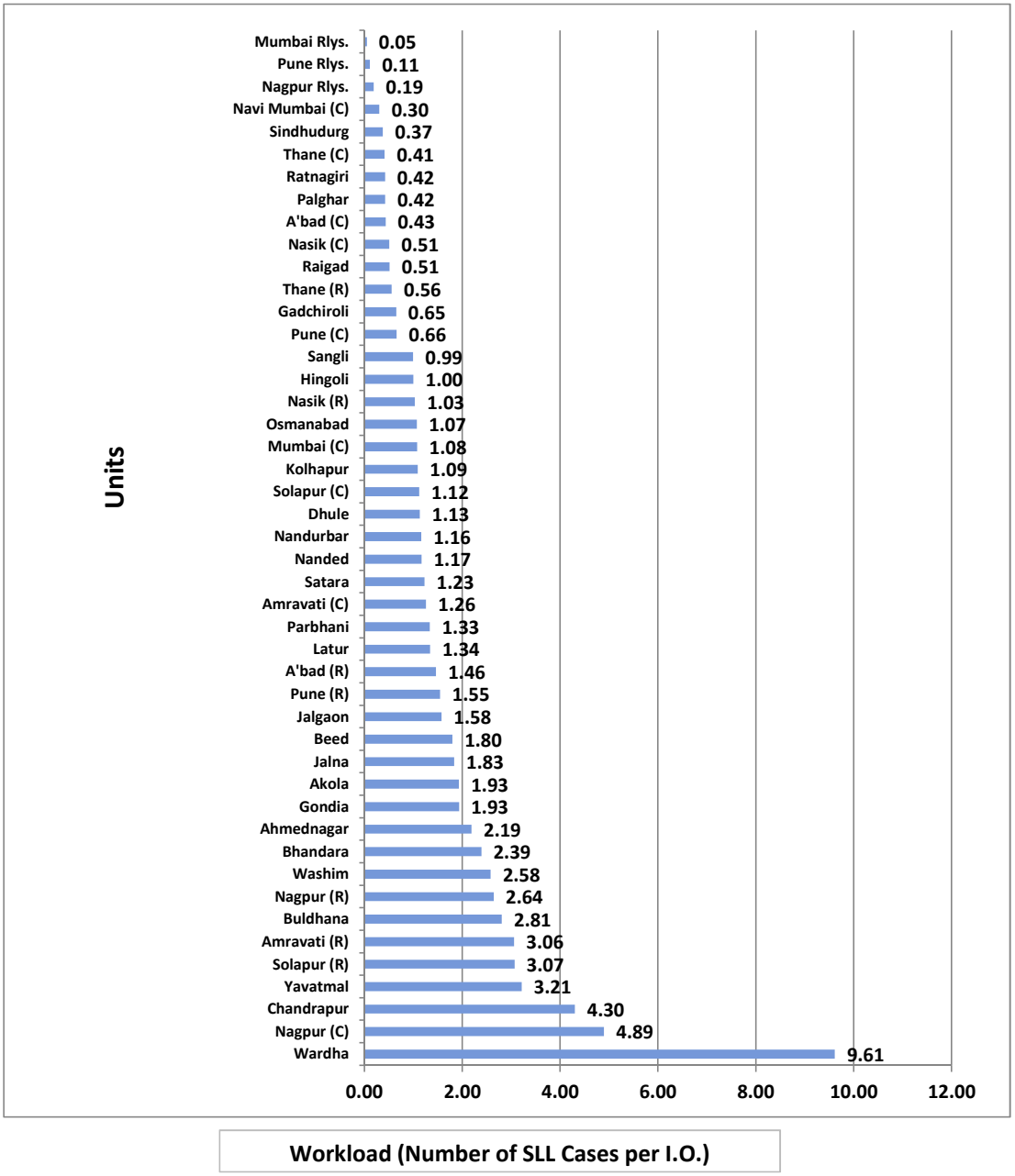

भा.दं.वि. आणि विशेष व स्थानिक कायद्याखालील एकूण गुन्ह्यांचा तपासी अधिकाऱ्यावरील भार

१९.६.३ सन २०१५ मध्ये दाखल झालेल्या भा.दं.वि., विशेष व स्थानिक क ायद्याखालील एकूण गुन्हयांची संख्या ४२३१८० एवढी आहे. तपासी अधिकारी व गुन्हयांच्या भाराचे प्रमाण हे प्रत्येक तपासी अधिकारी यांचेकडे 3.76 असे आहे.

Total work load of IPC & SLL cases on I.Os

19.6.3 During the year 2015, 423180 IPC + SLL cases were registered which were investigated. The workload is 3.76 cases per I.O.

महाराष्ट्रातील एकूण गुन्हयांचा तपासी अधिकाऱ्यावरील भार याची चर्चा करतांना एकूण तपासी अधिकाऱ्यांमध्ये पोलीस दलातील पोलीस नाईक यांचा नव्याने समावेश करण्यात आला आहे. पोलीस नाईक व त्यापेक्षा वरिष्ठ दर्जाच्या तपासी पोलीस अधिका-यांना फौजदारी दंड प्रक्रिया संहितेच्या कलम १५७ (१) मधील तरतूदीनुसार तपासाचे अधिकार प्रदान केले आहेत. (पहा - महाराष्ट्र शासन राजपत्र भाग चार अ मंत्रालय, मुंबई दि. ३० जानेवारी, २००६). राज्य राखीव पोलीस दलाव्यतिरिक्त सर्व पोलीस बल हे मुलकी पोलीस म्हणून संबोधण्यात येते. तपासी अधिकाऱ्यांमध्ये, सर्व जिल्हे व आयुक्तालयाकडील तसेच मुख्यालयाकडील मुलकी पोलीस नाईक यांचे संख्या बल धरण्यात आले आहे.

In course of examination of workload of investigating officers, Police Naik has been newly included as investigation officer. Police Naik and officers of senior ranks as investigating officers are being entrusted with investigation u/s 157 (1) of Cr.P.C. (See - Govt. of Maharashtra, Gazette Part IV A, Mantralaya, Mumbai, dated 30 January, 2006). Entire police force, except State Reserve Police Force, is called civil police. While calculating the number of total Investigating Officers, the number of all civil Police Naik of all Districts and Commissionerates as well as Police Naik posted at HQ have been included.

प्रत्यक्ष अधिकारी व कर्मचारी यांचे प्रमाण

१९.७.१ सन २०१५ मध्ये पोलीस दलात प्रत्यक्ष अधिकारी संख्या (पो.उप निरी. व त्यावरील अधिकारी) व प्रत्यक्ष कर्मचारी संख्या (स.पो.उ.नि., पो. ह., पो.ना., पो.शि.) यांचे प्रमाण १:१२ एवढे आहे.

Ratio of Actual Officers & Policemen

19.7.1 During the year 2015 the ratio of the actual number of police officers (from the rank of P.S.I. and above) to the actual number of policemen (ASI, HC, PN, PC) is 1:12.

तक्ता क्र. ९५

दि.३१.१२.२०१५ रोजी पोलीस अधिकारी व कर्मचारी यांचे मंजूर संख्याबळ (पुरुष + महिला)

Table No. 95

Sanctioned Strength Of Police Officers & Police Personnel (Men + Women) As On 31.12.2015

SR. NO.	UNIT	DG/Addl.DG/ I.G.P./D.I.G.P.	S.P./D.C.P./ COMMNDT./A.S.P	DY.SP/ A.C.P.	P.I./A.P.I/ P.S.I.	A.S.I./H.C. P.N./P.C.	GRAND TOTAL
1	Akola	0	2	5	155	2561	2723
2	Amravati (R)	0	2	8	200	2537	2747
3	Buldhana	0	3	6	197	2684	2890
4	Yavatmal	0	2	6	207	2721	2936
5	Washim	0	2	4	111	1486	1603
	Amravati Range Office	1	0	1	2	0	4
	Amravati Range	**1**	**11**	**30**	**872**	**11989**	**12903**
6	A'bad (R)	0	2	7	141	1915	2065
7	Jalna	0	2	5	111	1710	1828
8	Beed	0	3	7	188	2295	2493
9	Osmanabad	0	2	6	135	1886	2029
	Aurangabad Range Office	1	0	1	2	0	4
	Aurangabad Range	**1**	**9**	**26**	**577**	**7806**	**8419**
10	Nanded	0	3	12	297	3520	3832
11	Latur	0	2	8	129	1978	2117
12	Parbhani	0	2	7	139	1792	1940
13	Hingoli	0	2	4	77	1119	1202
	Nanded Range Office	1	0	1	1	0	3
	Nanded Range	**1**	**9**	**32**	**643**	**8409**	**9094**
14	Kolhapur	0	3	7	172	2938	3120
15	Pune (R)	0	3	9	213	3134	3359
16	Sangli	0	2	7	177	2752	2938
17	Satara	0	2	8	172	2934	3116
18	Solapur (R)	0	2	8	158	2527	2695
	Kolhapur Range Office	1	0	1	3	0	5
	Kolhapur Range	**1**	**12**	**40**	**895**	**14285**	**15233**
19	Bhandara	0	2	5	128	1564	1699
20	Chandrapur	0	2	7	222	2905	3136
21	Nagpur (R)	0	2	7	184	2421	2614
22	Wardha	0	2	5	124	1798	1929
	Nagpur Range Office	1	0	1	3	0	5
	Nagpur Range	**1**	**8**	**25**	**661**	**8688**	**9383**
23	Gadchiroli	0	6	12	347	5462	5827
24	Gondia	0	2	5	145	2351	2503
	Gadchiroli Range Office	1	0	1	3	0	5
	Gadchiroli Range	**1**	**8**	**18**	**495**	**7813**	**8335**
25	Ahmednagar	0	3	8	185	3138	3334
26	Dhule	0	2	4	125	1881	2012
27	Jalgaon	0	3	9	203	3526	3741
28	Nasik (R)	0	3	9	220	3411	3643
29	Nandurbar	0	2	5	91	1518	1616
	Nasik Range Office	1	0	1	2	0	4
	Nasik Range	**1**	**13**	**36**	**826**	**13474**	**14350**
30	Raigad	0	2	9	197	2345	2553
31	Ratnagiri	0	2	5	118	1632	1757
32	Sindhudurg	0	2	3	104	1249	1358
33	Thane (R)	0	2	6	158	2196	2362
34	Palghar	0	3	7	224	2859	3093
	Thane Range Office	1	0	1	2	0	4
	Thane Range	**1**	**11**	**31**	**803**	**10281**	**11127**
35	Mumbai Rlys.	1	2	9	228	3780	4020
36	Pune Rlys.	0	2	3	61	865	931
37	Nagpur Rlys.	0	2	5	90	1204	1301
	Addl. D.G.P., Railways, Range Office	1	0	1	6	0	8
	Railways Range	**2**	**6**	**18**	**385**	**5849**	**6260**
38	Nagpur (C)	5	9	19	651	7399	8083
39	Pune (C)	6	11	25	922	10162	11126
40	Thane (C)	6	11	27	845	9084	9973
41	Mumbai (C)	16	37	127	5400	40914	46494
42	Nasik (C)	1	4	8	253	3036	3302
43	A'bad (C)	1	3	8	218	3504	3734
44	Solapur (C)	1	3	7	124	2071	2206
45	Navi Mumbai (C)	2	6	9	494	4524	5035
46	Amravati (C)	1	3	7	148	1889	2048
	Total of Commrs.	**39**	**87**	**237**	**9055**	**82583**	**92001**
	Total of Dists./Commrs.(A)	**49**	**174**	**493**	**15212**	**171177**	**187105**

तक्ता क्र. ९५ (पूर्ण)

Table No. 95 (Concluded)

SR. NO.	UNIT	DG/Addl.DG/ I.G.P./D.I.G.P.	S.P./D.C.P./ COMMNDT./A.S.P	DY.SP/ A.C.P.	P.I./A.P.I/ P.S.I.	A.S.I./H.C. P.N./P.C.	GRAND TOTAL
1	D.G.P. Office Mumbai	9	6	9	46	155	225
2	D.G., A.C.B.,MS, Mumbai	4	7	16	263	0	290
3	Commissioner, S.I.D.MS, Mumbai	3	13	25	464	860	1365
4	ADDL. DGP, C.I.D. (Crime), MS,Pune	6	12	24	208	0	250
5	Spl.I.G.P., ANO, Nagpur	1	1	5	9	0	16
6	Addl. D.G.P.HSP.,MS.,Mumbai	1	4	4	201	0	210
7	Addl. D.G.P. P.C.R. MS,Mumbai	2	7	9	65	175	258
8	Addl. D.G.P., Wireless, Pune	2	1	9	9	3396	3417
9	S.P. Wireless, Pune	0	1	7	2	0	10
10	S.P. Wireless, Nagpur	0	1	6	2	0	9
11	S.P. Wireless, Mumbai	0	1	3	0	0	4
12	Spl. I.G.P., Force One, Mumbai	1	3	3	60	0	67
13	ADDL. D.G.P. S.R.P.F. Mumbai	2	0	0	0	0	2
14	SPL.I.G.P. S.R.P.F. Pune	1	0	0	4	0	5
15	SPL. I.G.P. S.R.P.F. Nagpur	1	0	0	0	0	1
16	S.R.P.F. Gr.I to XVI	0	16	84	198	16198	16496
17	Addl. D.G.P. Training & Spl. Units,MS, Mumbai	2	0	2	0	0	4
18	Director, MPA, Nasik	2	7	1	23	260	293
19	Training centres (Total-XI)	0	13	19	520	1132	1684
20	Maharashtra State Human Right Commission, Mumbai	1	1	0	2	0	4
21	Principal U.O. Trg Centre Nagpur	0	1	2	2	0	5
22	Spl. IGP, SPU, MS, Mumbai	1	3	15	621	941	1581
23	Dy. Director, DTS Nasik	0	1	1	5	0	7
24	Social Welfare Dept. (Thane/Pune/Nasik /Aurangabad/ Nagpur/Amravati)	0	0	0	43	0	43
25	Spl. I.G.P. (P.A.W.)	1	0	2	0	0	3
26	Director, MIA, Pune.	1	0	1	15	0	17
27	SPL.I.G.P. M.T. Pune	2	1	0	6	242	251
28	IG, Prison MS. Pune	1	0	1	3	0	5
29	Prison, Mumbai	1	0	0	1	0	2
30	Prison, Nagpur	1	0	0	2	0	3
31	Ragiv Gandhi Health Scheme,Mumbai	0	0	0	0	0	0
32	Spl. I.G.P., M.T. Nagpur	0	1	10	4	0	15
33	Addl. D.G.P. ATS., Mumbai	3	4	0	210	0	217
34	Commandant General, Homeguard & Director Civil Security M.S.Mumbai	2	0	0	0	0	2
35	Principal Secretary,H.D. MS. Mumbai	1	0	0	0	0	1
36	MD, MSPHW Corpn., Mumbai	2	0	0	0	0	2
37	Force One,Trg. Central, Mumbai	0	0	0	2	0	2
38	M.D., Maharashtra State Security Corporation, Mumbai	2	1	0	0	0	3
39	Director, R.T.I.(Mumbai/Pune/Nasik/Aurangabad /Nagpur/Amravati/Nandurbar/Gadchiroli	0	0	8	0	0	8
40	Shirdi Santhan	0	0	0	0	0	0
41	S.I.B.	0	0	0	0	0	0
42	Controller Of Legal Meteriology MSW	1	0	0	0	0	1
43	Vigilance And Security, M.S.E.D.Co. Ltd., Mumbai	1	0	0	0	0	1
44	Chief Vigilance Officer, MHADA, MS, Mumbai	1	0	0	0	0	1
45	Food & Drugs Admin. Mumbai	0	1	0	0	0	1
46	Rajbhavan,Mumbai	0	0	0	0	0	0
47	S.C. / S.T. Commission, Mumbai	0	1	8	2	0	11
48	Chief Security Officer, Sachivalaya, Mumbai	0	1	0	0	0	1
49	Sale Tax Officer, Mumbai	1	0	0	0	0	1
50	Addl.D.G.P.,SAG Mumbai	1	1	0	18	0	20
51	CEO MSRTC Mumbai	1	0	0	0	0	1
52	Addl.D.G.P Wireless, Mumbai	0	0	27	0	0	27
53	DIGP, M.T.Mumbai	1	2	0	0	0	3
54	M.T. Pune Range	0	1	5	0	0	6
55	M.T. Aurangabad Range	0	1	1	0	0	2
56	M.T.Boat Dept.Thane & Kokan Range	0	1	0	0	0	1
57	SP, Arms Branch	0	1	0	0	0	1
	Total other than Dists./Commrs (B)	**63**	**116**	**307**	**3010**	**23359**	**26855**
	Total of M.S. (A + B)	**112**	**290**	**800**	**18222**	**194536**	**213960**

Source :- D.G.P. Office, M.S. Mumbai

तक्ता क्र. ९६

दि.३१.१२.२०१५ रोजी पोलीस अधिकारी व कर्मचारी यांचे प्रत्यक्ष संख्याबळ (पुरुष+महिला)

Table No.96

Actual Strength Of Police Officers & Police Personnel (Men + Women) As On 31.12.2015

SR. NO.	UNIT	DG/Addl.DG/ I.G.P./D.I.G.P.	S.P./D.C.P./ COMMNDT./A.S.P.	DY.SP/ A.C.P.	P.I./A.P.I/ P.S.I.	A.S.I./H.C. P.N./P.C.	GRAND TOTAL
1	Akola	0	2	5	149	2449	2605
2	Amravati (R)	0	2	7	143	2488	2640
3	Buldhana	0	3	5	150	2650	2808
4	Yavatmal	0	2	6	194	2695	2897
5	Washim	0	2	4	105	1465	1576
	Amravati Range Office	1	0	1	2	0	4
	Amravati Range	**1**	**11**	**28**	**743**	**11747**	**12530**
6	A'bad (R)	0	2	7	110	1875	1994
7	Jalna	0	2	3	91	1662	1758
8	Beed	0	3	6	140	2225	2374
9	Osmanabad	0	2	6	100	1818	1926
	Aurangabad Range Office	1	0	0	2	0	3
	Aurangabad Range	**1**	**9**	**22**	**443**	**7580**	**8055**
10	Nanded	0	3	8	209	3369	3589
11	Latur	0	2	7	113	1914	2036
12	Parbhani	0	2	5	123	1717	1847
13	Hingoli	0	2	3	67	1195	1267
	Nanded Range Office	1	0	0	1	0	2
	Nanded Range	**1**	**9**	**23**	**513**	**8195**	**8741**
14	Kolhapur	0	3	7	162	2520	2692
15	Pune (R)	0	3	8	206	3078	3295
16	Sangli	0	2	6	143	2665	2816
17	Satara	0	2	7	149	2837	2995
18	Solapur (R)	0	2	7	150	2447	2606
	Kolhapur Range Office	1	0	0	2	0	3
	Kolhapur Range	**1**	**12**	**35**	**812**	**13547**	**14407**
19	Bhandara	0	2	1	86	1541	1630
20	Chandrapur	0	2	7	165	2829	3003
21	Nagpur (R)	0	2	6	144	2322	2474
22	Wardha	0	2	5	87	1770	1864
	Nagpur Range Office	1	0	0	2	0	3
	Nagpur Range	**1**	**8**	**19**	**484**	**8462**	**8974**
23	Gadchiroli	0	3	9	339	5344	5695
24	Gondia	0	2	2	142	2288	2434
	Gadchiroli Range Office	0	0	0	3	0	3
	Gadchiroli Range	**0**	**5**	**11**	**484**	**7632**	**8132**
25	Ahmednagar	0	3	8	154	3031	3196
26	Dhule	0	2	4	97	1783	1886
27	Jalgaon	0	3	8	175	3384	3570
28	Nasik (R)	0	3	9	185	3302	3499
29	Nandurbar	0	1	3	71	1480	1555
	Nasik Range Office	1	0	1	2	0	4
	Nasik Range	**1**	**12**	**33**	**684**	**12980**	**13710**
30	Raigad	0	2	8	84	2169	2263
31	Ratnagiri	0	2	5	86	1649	1742
32	Sindhudurg	0	1	3	74	1192	1270
33	Thane (R)	0	2	6	126	2160	2294
34	Palghar	0	3	5	172	2397	2577
	Thane Range Office	1	0	1	2	0	4
	Thane Range	**1**	**10**	**28**	**544**	**9567**	**10150**
35	Mumbai Rlys.	1	2	1	190	3602	3796
36	Pune Rlys.	0	1	2	45	848	896
37	Nagpur Rlys.	0	1	0	77	1160	1238
	Addl. D.G.P., Railways, Range Office	1	0	0	0	0	1
	Railways Range	**2**	**4**	**3**	**312**	**5610**	**5931**
38	Nagpur (C)	4	9	11	517	7251	7792
39	Pune (C)	3	10	23	800	9731	10567
40	Thane (C)	5	10	19	707	8713	9454
41	Mumbai (C)	13	37	76	3990	39041	43157
42	Nasik (C)	1	4	7	231	2979	3222
43	A'bad (C)	1	3	5	159	3441	3609
44	Solapur (C)	1	3	4	104	2051	2163
45	Navi Mumbai (C)	1	6	6	451	4454	4918
46	Amravati (C)	1	3	6	122	1840	1972
	Total of Commrs.	**30**	**85**	**157**	**7081**	**79501**	**86854**
	Total of Dists./Commrs.(A)	**39**	**165**	**359**	**12100**	**164821**	**177484**

तक्ता क्र. ९६ (पूर्ण)

Table No. 96 (Concluded)

SR. NO.	UNIT	DG/Addl.DG/ I.G.P./D.I.G.P.	S.P./D.C.P./ COMMNDT./A.S.P.	DY.SP/ A.C.P.	P.I./A.P.I/ P.S.I.	A.S.I./H.C. P.N./P.C.	GRAND TOTAL
1	D.G.P. Office Mumbai	8	2	1	18	132	161
2	D.G., A.C.B.,M.S., Mumbai	3	7	8	258	0	276
3	Commissioner, S.I.D.MS Mumbai	3	11	10	424	561	1009
4	ADDL. DGP, C.I.D. (Crime), Pune	5	9	5	202	0	221
5	Spl.I.G.P., ANO, Nagpur	1	0	0	7	0	8
6	Addl. D.G.P.HSP.,MS.,Mumbai	1	4	2	68	0	75
7	Addl. D.G.P. P.C.R. Mumbai	1	5	0	57	145	208
8	Addl. D.G.P., Wireless, Pune	2	0	0	8	1839	1849
9	S.P. Wireless, Pune	0	1	0	2	0	3
10	S.P. Wireless, Nagpur	0	1	0	2	0	3
11	S.P. Wireless, Mumbai	0	1	0	0	0	1
12	Spl. I.G.P. Force one, Mumbai	1	2	1	49	0	53
13	ADDL. D.G.P. S.R.P.F. Mumbai	2	0	0	0	0	2
14	SPL.I.G.P. S.R.P.F. Pune	1	0	0	1	0	2
15	SPL. I.G.P. S.R.P.F. Nagpur	1	0	0	0	0	1
16	S.R.P.F. Gr.I to XVI	0	14	30	163	14725	14932
17	Addl. D.G.P. Training Mumbai	2	0	0	0	0	2
18	Director, MPA, Nasik	2	3	8	1033	122	1168
19	Training centres (Total-XI)	0	12	0	365	796	1173
20	Maharashtra State Human Right Commission, Mumbai	1	1	0	2	0	4
21	Principal U.O. Trg Centre Nagpur	0	1	0	1	0	2
22	Spl. IGP, SPU, MS, Mumbai	1	2	0	171	709	883
23	Dy. Director, DTS Nasik	0	0	0	7	0	7
24	Social Welfare Dept., (Thane/Pune/ Nasik/Aurangabad/ Nagpur/Amravati)	0	0	5	31	0	36
25	Spl. I.G.P. (P.A.W.)	0	0	0	0	0	0
26	Director, MIA, Pune.	1	0	1	16	0	18
27	SPL.I.G.P. M.T. Pune	1	1	0	3	170	175
28	IG., Prison, Pune	1	0	0	0	0	1
29	Prison, Mumbai	1	0	0	0	0	1
30	Prison, Nagpur	1	0	0	0	0	1
31	Ragiv Gandhi Health Scheme,Mumbai	0	0	0	0	0	0
32	SPL.I.G.P. M.T. Nagpur	0	0	0	2	0	2
33	Addl. D.G.P. ATS., Mumbai	2	3	5	139	0	149
34	Commandant General, Homeguard & Director Civil Security M.S.Mumbai	2	0	0	0	0	2
35	Principal Secretary,H.D. MS. Mumbai	1	0	0	0	0	1
36	MD, MSPHW Corpn., Mumbai	2	0	0	0	0	2
37	Force One,Trg. Central, Mumbai	0	0	0	3	0	3
38	M.D., Maharashtra State Security Corporation, Mumbai	2	1	0	0	0	3
39	Director, R.T.I.(Mumbai/Pune/Nasik/ Aurangabad/Nagpur/Amaravati/Nandurbar/Gadchirol	0	0	2	0	0	2
40	Shirdi Santhan	0	0	0	0	0	0
41	S.I.B.	0	0	0	0	0	0
42	Controller Of Legal Meteriology MSW	1	0	0	0	0	1
43	Vigilance And Security, M.S.E.D.Co. Ltd., Mumbai	1	0	0	0	0	1
44	Chief Vigillance Officer, MHADA, MS, Mumbai	1	0	0	0	0	1
45	Food & Drugs Admin. Mumbai	0	1	0	0	0	1
46	Rajbhavan,Mumbai	0	0	0	0	0	0
47	S.C. / S.T. Commission, Mumbai	0	0	0	3	0	3
48	Chief Security Officer, Sachivalaya, Mumbai	0	1	0	0	0	1
49	Sale Tax Officer, Mumbai	1	0	0	0	0	1
50	Addl.D.G.P.,SAG Mumbai	1	0	0	2	0	3
51	CEO MSRTC Mumbai	1	0	0	0	0	1
52	Addl.D.G.P Wireless, Mumbai	0	0	0	0	0	0
53	DIGP, M.T.Mumbai	1	0	0	0	0	1
54	M.T. Pune Range	0	1	0	0	0	1
55	M.T. Aurangabad Range	0	0	0	0	0	0
56	M.T.Boat Dept.Thane & Kokan Range	0	1	0	0	0	1
57	SP, Arms Branch	0	0	0	0	0	0
	Total other than Dists./Commrs (B)	**56**	**85**	**78**	**3037**	**19199**	**22455**
	Total of M.S. (A + B)	**95**	**250**	**437**	**15137**	**184020**	**199939**

Source :- D.G.P. Office, M.S. Mumbai

तक्ता क्र. ९७

दि. ३१.१२.२०१५ रोजी महिला पोलिसांचे प्रत्यक्ष संख्याबळ

Table No. 97

Actual Strength Of Women Police As On 31.12.2015

SR. NO.	UNIT	DG/Addl.DG/ I.G.P./D.I.G.P.	S.P./D.C.P./ COMMNDT.	A.S.P./DY.SP/ A.C.P.	P.I./A.P.I P.S.I.	A.S.I./H.C. P.N./P.C.	GRAND TOTAL
1	Akola	0	0	0	16	286	302
2	Amravati (R)	0	0	0	20	368	388
3	Buldhana	0	1	1	9	308	319
4	Yavatmal	0	0	2	16	345	363
5	Washim	0	0	0	7	208	215
	Amravati Range Office	0	0	0	0	0	0
	Amravati Range	**0**	**1**	**3**	**68**	**1515**	**1587**
6	A'bad (R)	0	0	0	13	239	252
7	Jalna	0	1	1	8	199	209
8	Beed	0	0	1	6	313	320
9	Osmanabad	0	1	2	7	281	291
	Aurangabad Range Office	0	0	0	0	0	0
	Aurangabad Range	**0**	**2**	**4**	**34**	**1032**	**1072**
10	Nanded	0	0	0	15	434	449
11	Latur	0	1	2	14	208	225
12	Parbhani	0	1	0	9	215	225
13	Hingoli	0	0	0	9	114	123
	Nanded Range Office	0	0	0	0	0	0
	Nanded Range	**0**	**2**	**2**	**47**	**971**	**1022**
14	Kolhapur	0	0	0	14	439	453
15	Pune (R)	0	0	2	15	339	356
16	Sangli	0	0	1	9	420	430
17	Satara	0	0	2	13	479	494
18	Solapur (R)	0	1	0	12	355	368
	Kolhapur Range Office	0	0	0	0	0	0
	Kolhapur Range	**0**	**1**	**5**	**63**	**2032**	**2101**
19	Bhandara	0	2	0	5	237	244
20	Chandrapur	0	0	1	14	419	434
21	Nagpur (R)	0	1	1	12	371	385
22	Wardha	0	1	0	12	258	271
	Nagpur Range Office	0	0	0	0	0	0
	Nagpur Range	**0**	**4**	**2**	**43**	**1285**	**1334**
23	Gadchiroli	0	0	0	4	839	843
24	Gondia	0	0	0	2	366	368
	Gadchiroli Range Office	0	0	0	0	0	0
	Gadchiroli Range	**0**	**0**	**0**	**6**	**1205**	**1211**
25	Ahmednagar	0	0	0	12	418	430
26	Dhule	0	0	0	6	163	169
27	Jalgaon	0	0	1	15	251	267
28	Nasik (R)	0	0	0	20	401	421
29	Nandurbar	0	0	0	4	150	154
	Nasik Range Office	0	0	0	0	0	0
	Nasik Range	**0**	**0**	**1**	**57**	**1383**	**1441**
30	Raigad	0	0	1	8	316	325
31	Ratnagiri	0	0	2	9	278	289
32	Sindhudurg	0	0	1	7	216	224
33	Thane (R)	0	0	0	13	330	343
34	Palghar	0	1	0	12	377	390
	Thane Range Office	0	0	0	0	0	0
	Thane Range	**0**	**1**	**4**	**49**	**1517**	**1571**
35	Mumbai Rlys.	0	1	1	4	592	598
36	Pune Rlys.	0	0	0	5	97	102
37	Nagpur Rlys.	0	0	0	0	158	158
	Addl. D.G.P., Railways, Range Office	0	0	0	0	0	0
	Railways Range	**0**	**1**	**1**	**9**	**847**	**858**
38	Nagpur (C)	0	2	0	63	1170	1235
39	Pune (C)	0	0	3	132	1880	2015
40	Thane (C)	0	1	1	81	1367	1450
41	Mumbai (C)	0	4	1	416	5034	5455
42	Nasik (C)	0	1	0	43	387	431
43	A'bad (C)	0	0	0	27	462	489
44	Solapur (C)	0	2	1	10	303	316
45	Navi Mumbai (C)	0	0	0	15	630	645
46	Amravati (C)	0	0	1	17	232	250
	Total of Commrs.	**0**	**10**	**7**	**804**	**11465**	**12286**
	Total of Dists./Commrs.(A)	**0**	**22**	**29**	**1180**	**23252**	**24483**

तक्ता क्र. ९७ (पूर्ण)

Table No. 97 (Concluded)

SR. NO.	UNIT	DG/Addl.DG/ I.G.P./D.I.G.P.	S.P./D.C.P./ COMMNDT.	A.S.P./DY.SP/ A.C.P.	P.I./A.P.I. P.S.I.	A.S.I./H.C. P.N./P.C.	GRAND TOTAL
1	D.G.P. Office Mumbai	1	0	1	1	12	15
2	D.G., A.C.B.,M.S., Mumbai	0	0	0	40	0	40
3	Commissioner, S.I.D.MS Mumbai	1	3	1	81	38	124
4	ADDL. DGP, C.I.D. (Crime), Pune	0	3	2	50	0	55
5	Spl.I.G.P., ANO, Nagpur	0	0	0	0	0	0
6	Addl. D.G.P.HSP.,MS.,Mumbai	0	1	1	2	0	4
7	Addl. D.G.P. P.C.R. Mumbai	0	0	0	9	25	34
8	Addl. D.G.P., Wireless, Pune	0	0	0	0	144	144
9	S.P. Wireless, Pune	0	0	0	0	0	0
10	S.P. Wireless, Nagpur	0	0	0	0	0	0
11	S.P. Wireless, Mumbai	0	0	0	0	0	0
12	Spl. I.G.P. Force one, Mumbai	0	0	0	13	0	13
13	ADDL. D.G.P. S.R.P.F. Mumbai	0	0	0	0	0	0
14	SPL.I.G.P. S.R.P.F. Pune	0	0	0	0	0	0
15	SPL. I.G.P. S.R.P.F. Nagpur	0	0	0	0	0	0
16	S.R.P.F. Gr.I to XVI	0	0	0	0	0	0
17	Addl. D.G.P. Training Mumbai	0	0	0	0	0	0
18	Director, MPA, Nasik	0	1	0	310	0	311
19	Training centres (Total-XI)	0	0	0	27	43	70
20	Maharashtra State Human Right Commission, Mumbai	0	0	0	1	0	1
21	Principal U.O. Trg Centre Nagpur	0	0	0	0	0	0
22	Spl. IGP, SPU, MS, Mumbai	0	0	0	12	69	81
23	Dy. Director, DTS Nasik	0	0	0	2	0	2
24	Social Welfare Dept., (Thane/Pune/ Nasik/Aurangabad Nagpur/Amravati)	0	0	1	2	0	3
25	Spl. I.G.P. (P.A.W.)	0	0	0	0	0	0
26	Director, MIA, Pune.	0	0	0	2	0	2
27	SPL.I.G.P. M.T. Pune	0	0	0	0	0	0
28	IG., Prison, Pune	0	0	0	0	0	0
29	Prison, Mumbai	0	0	0	0	0	0
30	Prison, Nagpur	0	0	0	0	0	0
31	Ragiv Gandhi Health Scheme,Mumbai	0	0	0	0	0	0
32	SPL.I.G.P. M.T. Nagpur	0	0	0	0	0	0
33	Addl. D.G.P. ATS., Mumbai	0	0	0	6	0	6
34	Commandant General, Homeguard & Director Civil Security M.S.Mumbai	0	0	0	0	0	0
35	Principal Secretary,H.D. MS. Mumbai	0	0	0	0	0	0
36	MD, MSPHW Corpn., Mumbai	0	0	0	0	0	0
37	Force One,Trg. Central, Mumbai	0	0	0	0	0	0
38	M.D., Maharashtra State Security Corporation, Mumbai	0	0	0	0	0	0
39	Director, R.T.I.(Mumbai/Pune/Nasik/ Aurangabad/Nagpur/Amaravati/Nandurbar/Gadchiroli	0	0	1	0	0	1
40	Shirdi Santhan	0	0	0	0	0	0
41	S.I.B.	0	0	0	0	0	0
42	Controller Of Legal Meteriology MSW	0	0	0	0	0	0
43	Vigilance And Security, M.S.E.D.Co. Ltd., Mumbai	0	0	0	0	0	0
44	Chief Vigillance Officer, MHADA, MS, Mumbai	0	0	0	0	0	0
45	Food & Drugs Admin. Mumbai	0	0	0	0	0	0
46	Rajbhavan,Mumbai	0	0	0	0	0	0
47	S.C. / S.T. Commission, Mumbai	0	0	0	1	0	1
48	Chief Security Officer, Sachivalaya, Mumbai	0	0	0	0	0	0
49	Sale Tax Officer, Mumbai	0	0	0	0	0	0
50	Addl.D.G.P.,SAG Mumbai	0	0	0	0	0	0
51	CEO MSRTC Mumbai	0	0	0	0	0	0
52	Addl.D.G.P Wireless, Mumbai	0	0	0	0	0	0
53	DIGP, M.T.Mumbai	0	0	0	0	0	0
54	M.T. Pune Range	0	0	0	0	0	0
55	M.T. Aurangabad Range	0	0	0	0	0	0
56	M.T.Boat Dept.Thane & Kokan Range	0	0	0	0	0	0
57	SP, Arms Branch	0	0	0	0	0	0
	Total other than Dists./Commrs (B)	**2**	**8**	**7**	**559**	**331**	**907**
	Total of M.S. (A + B)	**2**	**30**	**36**	**1739**	**23583**	**25390**

Source :- D.G.P. Office, M.S. Mumbai

तक्ता क्र. ९८

सन २०१५ मधील क्षेत्रफळ, लोकसंख्या व दखलपात्र गुन्हे यांच्या तुलनेत पोलिसांचे प्रत्यक्ष संख्याबळ

TABLE NO.98

ACTUAL POLICE STRENGTH IN RELATION TO AREA, POPULATION, COGNIZABLE CRIMES DURING 2015

Sr. No.	Unit	Area (in Sqr-Kms)	Estimated Mid - Year Population (in Lakhs)	Total cases for investigation (including pending cases from previous year			Actual Police strength	Actual Police strength (of Ranks)		
				I.P.C.	S.L.L.	TOTAL		D.G. to P.S.I.	A.S.I.. to P.C.	Teeth to Tail ratio
1	2	3	4	5	6	7	8	9	10	11
1	Akola	5676	19.13	4423	2662	7085	2605	156	2449	16
2	Amravati (R)	11250	21.76	7380	4924	12304	2640	152	2488	16
3	Buldhana	9661	27.32	4959	4524	9483	2808	158	2650	17
4	Yavatmal	13582	29.57	8148	5884	14032	2897	202	2695	13
5	Washim	4898	12.82	2759	2024	4783	1576	111	1465	13
	Amravati Range Office	0	0.00	0	0	0	4	4	0	0
	Amravati Range	**45067**	**110.59**	**27669**	**20018**	**47687**	**12530**	**783**	**11747**	**15**
6	A'bad (R)	9200	23.72	5168	1728	6896	1994	119	1875	16
7	Jalna	7718	21.08	3646	1801	5447	1758	96	1662	17
8	Beed	10693	27.76	5480	2767	8247	2374	149	2225	15
9	Osmanabad	7569	17.65	3316	1206	4522	1926	108	1818	17
	Aurangabad Range Office	0	0.00	0	0	0	3	3	0	0
	Aurangabad Range	**35180**	**90.21**	**17610**	**7502**	**25112**	**8055**	**475**	**7580**	**16**
10	Nanded	10528	35.98	5654	2353	8007	3589	220	3369	15
11	Latur	7157	26.31	4616	1764	6380	2036	122	1914	16
12	Parbhani	6214	19.72	4083	1566	5649	1847	130	1717	13
13	Hingoli	4827	12.64	1941	804	2745	1267	72	1195	17
	Nanded Range Office	0	0.00	0	0	0	2	2	0	0
	Nanded Range	**28726**	**94.65**	**16294**	**6487**	**22781**	**8741**	**546**	**8195**	**15**
14	Kolhapur	7685	41.22	6109	1586	7695	2692	172	2520	15
15	Pune (R)	14900	44.48	11803	2882	14685	3295	217	3078	14
16	Sangli	8572	29.98	6317	1640	7957	2816	151	2665	18
17	Satara	10480	31.84	6640	2135	8775	2995	158	2837	18
18	Solapur (R)	14700	35.74	7284	4788	12072	2606	159	2447	15
	Kolhapur Range Office	0	0.00	0	0	0	3	3	0	0
	Kolhapur Range	**56337**	**183.25**	**38153**	**13031**	**51184**	**14407**	**860**	**13547**	**16**
19	Bhandara	4087	12.71	2016	2300	4316	1630	89	1541	17
20	Chandrapur	11443	23.35	4414	7208	11622	3003	174	2829	16
21	Nagpur (R)	9700	22.51	4467	4013	8480	2474	152	2322	15
22	Wardha	6309	13.77	4059	10926	14985	1864	94	1770	19
	Nagpur Range Office	0	0.00	0	0	0	3	3	0	0
	Nagpur Range	**31539**	**72.33**	**14956**	**24447**	**39403**	**8974**	**512**	**8462**	**17**
23	Gadchiroli	14412	11.42	1499	1813	3312	5695	351	5344	15
24	Gondia	5234	14.06	1882	2497	4379	2434	146	2288	16
	Gadchiroli Range Office	0	0.00	0	0	0	3	3	0	0
	Gadchiroli Range	**19646**	**25.48**	**3381**	**4310**	**7691**	**8132**	**500**	**7632**	**15**
25	Ahmednagar	17048	48.02	8018	3892	11910	3196	165	3031	18
26	Dhule	7195	22.02	2738	1144	3882	1886	103	1783	17
27	Jalgaon	11765	45.18	6609	3270	9879	3570	186	3384	18
28	Nasik (R)	15000	47.62	7232	2184	9416	3499	197	3302	17
29	Nandurbar	5955	17.79	1388	1007	2395	1555	75	1480	20
	Nasik Range Office	0	0.00	0	0	0	4	4	0	0
	Nasik Range	**56963**	**180.64**	**25985**	**11497**	**37482**	**13710**	**730**	**12980**	**18**
30	Raigad	7152	18.77	3127	659	3786	2263	94	2169	23
31	Ratnagiri	8208	16.15	2188	430	2618	1742	93	1649	18
32	Sindhudurg	5207	8.50	838	281	1119	1270	78	1192	15
33	Thane (R)	2703	23.97	4007	749	4756	2294	134	2160	16
34	Palghar	4697	31.61	5343	613	5956	2577	180	2397	13
	Thane Range Office	0	0.00	0	0	0	4	4	0	0
	Thane Range	**27967**	**99.00**	**15503**	**2732**	**18235**	**10150**	**583**	**9567**	**16**
35	Mumbai Rlys.	0	0.00	4234	99	4333	3796	194	3602	19
36	Pune Rlys.	0	0.00	780	52	832	896	48	848	18
37	Nagpur Rlys.	0	0.00	2263	128	2391	1238	78	1160	15
	Addl. D.G.P., Railways, Range Office	0	0.00	0	0	0	1	1	0	0
	Railways Range	**0**		**7277**	**279**	**7556**	**5931**	**321**	**5610**	**17**
38	Nagpur (C)	192	27.04	11018	22095	33113	7792	541	7251	13
39	Pune (C)	743	57.40	15349	3983	19332	10567	836	9731	12
40	Thane (C)	1458	50.87	15204	2226	17430	9454	741	8713	12
41	Mumbai (C)	603	126.30	42940	23737	66677	43157	4116	39041	9
42	Nasik (C)	530	17.41	3963	907	4870	3222	243	2979	12
43	A'bad (C)	907	16.02	7051	794	7845	3609	168	3441	20
44	Solapur (C)	195	10.28	2583	1365	3948	2163	112	2051	18
45	Navi Mumbai (C)	700	21.38	5990	902	6892	4918	464	4454	10
46	Amravati (C)	960	8.59	4488	1454	5942	1972	132	1840	14
	Total of Commrs.	**6288**	**335.29**	**108586**	**57463**	**166049**	**86854**	**7353**	**79501**	**11**
	Total of Dists./Commrs.(A)	**307713**	**1191.43**	**275414**	**147766**	**423180**	**177484**	**12663**	**164821**	**13**

तक्ता क्र. ९८ (चालू)

TABLE NO. 98 (Continued)

Sr. No.	Unit	Area (in Sqr. Kms)	Estimated Mid Year Population (in Lakhs)	Total cases for investigation (including pending cases from previous year			Actual Police Strength	Actual Police strength (of Ranks)		
				IPC	SLL	Total		D.G. to PSI	ASI. to P.C.	Teeth to Tail ratio
1	2	3	4	5	6	7	8	9	10	11
1	D.G.P. Office Mumbai	0	0	0	0	0	161	29	132	5
2	D.G., A.C.B.,M.S., Mumbai	0	0	0	0	0	276	276	0	0
3	Commissioner, S.I.D.MS Mumbai	0	0	0	0	0	1009	448	561	1
4	ADDL. DGP, C.I.D. (Crime), Pune	0	0	0	0	0	221	221	0	0
5	Spl.I.G.P., ANO, Nagpur	0	0	0	0	0	8	8	0	0
6	Addl. D.G.P.HSP.,MS.,Mumbai	0	0	0	0	0	75	75	0	0
7	Addl. D.G.P. P.C.R. Mumbai	0	0	0	0	0	208	63	145	2
8	Addl. D.G.P., Wireless, Pune	0	0	0	0	0	1849	10	1839	184
9	S.P. Wireless, Pune	0	0	0	0	0	3	3	0	0
10	S.P. Wireless, Nagpur	0	0	0	0	0	3	3	0	0
11	S.P. Wireless, Mumbai	0	0	0	0	0	1	1	0	0
12	Spl. I.G.P. Force one, Mumbai	0	0	0	0	0	53	53	0	0
13	ADDL. D.G.P. S.R.P.F. Mumbai	0	0	0	0	0	2	2	0	0
14	SPL.I.G.P. S.R.P.F. Pune	0	0	0	0	0	2	2	0	0
15	SPL. I.G.P. S.R.P.F. Nagpur	0	0	0	0	0	1	1	0	0
16	S.R.P.F. Gr.I to XVI	0	0	0	0	0	14932	207	14725	71
17	Addl. D.G.P. Training Mumbai	0	0	0	0	0	2	2	0	0
18	Director, MPA, Nasik	0	0	0	0	0	1168	1046	122	0
19	Training centres (Total-XI)	0	0	0	0	0	1173	377	796	2
20	Maharashtra State Human Right Commission, Mumbai	0	0	0	0	0	4	4	0	0
21	Principal U.O. Trg Centre Nagpur	0	0	0	0	0	2	2	0	0
22	Spl. IGP, SPU, MS, Mumbai	0	0	0	0	0	883	174	709	4
23	Dy. Director, DTS Nasik	0	0	0	0	0	7	7	0	0
24	Social Welfare Dept., (Thane/Pune/ Nasik/Aurangabad/ Nagpur/Amravati)	0	0	0	0	0	36	36	0	0
25	Spl. I.G.P. (P.A.W.)	0	0	0	0	0	0	0	0	0
26	Director, MIA, Pune.	0	0	0	0	0	18	18	0	0
27	SPL.I.G.P. M.T. Pune	0	0	0	0	0	175	5	170	34
28	IG., Prison, Pune	0	0	0	0	0	1	1	0	0
29	Prison, Mumbai	0	0	0	0	0	1	1	0	0
30	Prison, Nagpur	0	0	0	0	0	1	1	0	0
31	Ragiv Gandhi Health Scheme,Mumbai	0	0	0	0	0	0	0	0	0
32	SPL.I.G.P. M.T. Nagpur	0	0	0	0	0	2	2	0	0
33	Addl. D.G.P. ATS., Mumbai	0	0	0	0	0	149	149	0	0
34	Commandant General, Homeguard & Director Civil Security M.S.Mumba	0	0	0	0	0	2	2	0	0
35	Principal Secretary,H.D. MS. Mumbai	0	0	0	0	0	1	1	0	0
36	MD, MSPHW Corpn., Mumbai	0	0	0	0	0	2	2	0	0
37	Force One,Trg. Central, Mumbai	0	0	0	0	0	3	3	0	0
38	M.D., Maharashtra State Security Corporation, Mumbai	0	0	0	0	0	3	3	0	0
39	Director, R.T.I.(Mumbai/Pune/Nasik/ Aurangabad/Nagpur/Amaravati/Nandurbar/G adchiroli	0	0	0	0	0	2	2	0	0
40	Shirdi Santhan	0	0	0	0	0	0	0	0	0
41	S.I.B.	0	0	0	0	0	0	0	0	0
42	Controller Of Legal Meteriology MSW	0	0	0	0	0	1	1	0	0
43	Vigilance And Security, M.S.E.D.Co. Ltd., Mumbai	0	0	0	0	0	1	1	0	0
44	Chief Vigilance Officer, MHADA, MS, Mumbai	0	0	0	0	0	1	1	0	0
45	Food & Drugs Admin. Mumbai	0	0	0	0	0	1	1	0	0
46	Rajbhavan,Mumbai	0	0	0	0	0	0	0	0	0
47	S.C. / S.T. Commission, Mumbai	0	0	0	0	0	3	3	0	0
48	Chief Security Officer, Sachivalaya, Mumbai	0	0	0	0	0	1	1	0	0
49	Sale Tax Officer, Mumbai	0	0	0	0	0	1	1	0	0
50	Addl.D.G.P.,SAG Mumbai	0	0	0	0	0	3	3	0	0
51	CEO MSRTC Mumbai	0	0	0	0	0	1	1	0	0
52	Addl.D.G.P Wireless, Mumbai	0	0	0	0	0	0	0	0	-
53	DIGP, M.T.Mumbai	0	0	0	0	0	1	1	0	0
54	M.T. Pune Range	0	0	0	0	0	1	1	0	0
55	M.T. Aurangabad Range	0	0	0	0	0	0	0	0	0
56	M.T.Boat Dept.Thane & Kokan Range	0	0	0	0	0	1	1	0	0
57	SP, Arms Branch	0	0	0	0	0	0	0	0	0
	Total other than Dists./Commrs (B)	**0**	**0**	**0**	**0**	**0**	**22455**	**3256**	**19199**	**6**
	Total of M.S. (A + B)	**307713**	**1191**	**275414**	**147766**	**423180**	**199939**	**15919**	**184020**	**12**

Source :- D.G.P. Office, M.S. Mumbai

तक्ता क्र.- ९८ (पूर्ण)

सन २०१५ मधील क्षेत्रफळ, लोकसंख्या व दखलपात्र गुन्हे यांच्या तुलनेत पोलिसांचे प्रत्यक्ष संख्याबळ

TABLE NO.- 98 (Concluded)

ACTUAL POLICE STRENGTH IN RELATION TO AREA, POPULATION, COGNIZABLE CRIMES DURING THE YEAR 2015

Sr. No.	Unit	Actual Police Strength of I.Os. (P.I./API/ PSI/ASI/HC/PN	Policemen per 100 Sqr. Kms of area	Nubmer of Policemen per 1000 of population	Nubmer of Policemen per 1,00,000 of population	Number of IPC Cases per Civil Policeman	Workload of I.Os. I.P.C	Workload of I.Os. S.L.L.	Workload of I.Os. Total
1	2	12	13	14	15	16	17	18	19
1	Akola	1381	46	1	136	2	3.20	1.93	5.13
2	Amravati (R)	1610	23	1	121	3	4.58	3.06	7.64
3	Buldhana	1612	29	1	103	2	3.08	2.81	5.88
4	Yavatmal	1831	21	1	98	3	4.45	3.21	7.66
5	Washim	785	32	1	123	2	3.51	2.58	6.09
	Amravati Range Office	2	0	0	0	0	0.00	0.00	0.00
	Amravati Range	**7221**	**28**	**1**	**113**	**2**	**3.83**	**2.77**	**6.60**
6	A'bad (R)	1183	22	1	84	3	4.37	1.46	5.83
7	Jalna	983	23	1	83	2	3.71	1.83	5.54
8	Beed	1538	22	1	86	2	3.56	1.80	5.36
9	Osmanabad	1129	25	1	109	2	2.94	1.07	4.01
	Aurangabad Range Office	2	0	0	0	0	0.00	0.00	0.00
	Aurangabad Range	**4835**	**23**	**1**	**89**	**2**	**3.64**	**1.55**	**5.19**
10	Nanded	2016	34	1	100	2	2.80	1.17	3.97
11	Latur	1313	28	1	77	2	3.52	1.34	4.86
12	Parbhani	1174	30	1	94	2	3.48	1.33	4.81
13	Hingoli	806	26	1	100	2	2.41	1.00	3.41
	Nanded Range Office	1	0	0	0	0	0.00	0.00	0.00
	Nanded Range	**5310**	**30**	**1**	**92**	**2**	**3.07**	**1.22**	**4.29**
14	Kolhapur	1458	35	1	65	2	4.19	1.09	5.28
15	Pune (R)	1863	22	1	74	4	6.34	1.55	7.88
16	Sangli	1649	33	1	94	2	3.83	0.99	4.83
17	Satara	1737	29	1	94	2	3.82	1.23	5.05
18	Solapur (R)	1561	18	1	73	3	4.67	3.07	7.73
	Kolhapur Range Office	2	0	0	0	0	0.00	0.00	0.00
	Kolhapur Range	**8270**	**26**	**1**	**79**	**3**	**4.61**	**1.58**	**6.19**
19	Bhandara	963	40	1	128	1	2.09	2.39	4.48
20	Chandrapur	1676	26	1	129	1	2.63	4.30	6.93
21	Nagpur (R)	1520	26	1	110	2	2.94	2.64	5.58
22	Wardha	1137	30	1	135	2	3.57	9.61	13.18
	Nagpur Range Office	2	0	0	0	0	0.00	0.00	0.00
	Nagpur Range	**5298**	**28**	**1**	**124**	**2**	**2.82**	**4.61**	**7.44**
23	Gadchiroli	2800	40	5	499	0	0.54	0.65	1.18
24	Gondia	**1292**	**47**	**2**	**173**	**1**	**1.46**	**1.93**	**3.39**
	Gadchiroli Range Office	**3**	**0**	**0**	**0**	**0**	**0.00**	**0.00**	**0.00**
	Gadchiroli Range	**4095**	**41**	**3**	**319**	**0**	**0.83**	**1.05**	**1.88**
25	Ahmednagar	1778	19	1	67	3	4.51	2.19	6.70
26	Dhule	1012	26	1	86	1	2.71	1.13	3.84
27	Jalgaon	2074	30	1	79	2	3.19	1.58	4.76
28	Nasik (R)	2119	23	1	73	2	3.41	1.03	4.44
29	Nandurbar	868	26	1	87	1	1.60	1.16	2.76
	Nasik Range Office	2	0	0	0	0	0.00	0.00	0.00
	Nasik Range	**7853**	**24**	**1**	**76**	**2**	**3.31**	**1.46**	**4.77**
30	Raigad	1280	32	1	121	1	2.44	0.51	2.96
31	Ratnagiri	1025	21	1	108	1	2.13	0.42	2.55
32	Sindhudurg	751	24	1	149	1	1.12	0.37	1.49
33	Thane (R)	1348	85	1	96	2	2.97	0.56	3.53
34	Palghar	1446	55	1	82	2	3.70	0.42	4.12
	Thane Range Office	2	0	0	0	0	0.00	0.00	0.00
	Thane Range	**5852**	**36**	**1**	**103**	**2**	**2.65**	**0.47**	**3.12**
35	Mumbai Rlys.	2069	0	0	0	1	2.05	0.05	2.09
36	Pune Rlys.	478	0	0	0	1	1.63	0.11	1.74
37	Nagpur Rlys.	670	0	0	0	2	3.38	0.19	3.57
	Addl. D.G.P., Railways, Range Office	0	0	0	0	0	0.00	0.00	0.00
	Railways Range	**3217**	**0**	**0**	**0**	**1**	**2.26**	**0.09**	**2.35**
38	Nagpur (C)	4516	4058	3	288	1	2.44	4.89	7.33
39	Pune (C)	6080	1422	2	184	1	2.52	0.66	3.18
40	Thane (C)	5403	648	2	186	2	2.81	0.41	3.23
41	Mumbai (C)	22061	7157	3	342	1	1.95	1.08	3.02
42	Nasik (C)	1792	608	2	185	1	2.21	0.51	2.72
43	A'bad (C)	1839	398	2	225	2	3.83	0.43	4.27
44	Solapur (C)	1222	1109	2	210	1	2.11	1.12	3.23
45	Navi Mumbai (C)	2969	703	2	230	1	2.02	0.30	2.32
46	Amravati (C)	1156	205	2	230	2	3.88	1.26	5.14
	Total of Commrs.	**47038**	**1381**	**3**	**259**	**1**	**2.31**	**1.22**	**3.53**
	Total of Dists./Commrs.(A)	**98989**	**58**	**1**	**149**	**2**	**2.78**	**1.49**	**4.28**

तक्ता क्र.- १८ (पूर्ण)

TABLE NO.- 98 (Concluded)

Sr. No.	Unit	Actual Police Strength of I.Os. (P.I./API/ PSI/ASI/HC/PN	Policemen per 100 Sqr. Kms. of area.	No. of Policemen per 1000 of Population	No. of Policemen per 1,00,000 of Population	No. of IPC cases per civil policeman	Work load of I.Os. I.P.C.	S.L.L.	TOTAL
1	2	12	13	14	15	16	17	18	19
1	D.G.P. Office Mumbai	103	0.00	0	0	0	0.00	0.00	0.00
2	D.G., A.C.B.,M.S., Mumbai	258	0.00	0	0	0	0.00	0.00	0.00
3	Commissioner, S.I.D.MS Mumbai	984	0.00	0	0	0	0.00	0.00	0.00
4	ADDL. DGP, C.I.D. (Crime), Pune	202	0.00	0	0	0	0.00	0.00	0.00
5	Spl.I.G.P., ANO, Nagpur	7	0.00	0	0	0	0.00	0.00	0.00
6	Addl. D.G.P.HSP.,MS.,Mumbai	68	0.00	0	0	0	0.00	0.00	0.00
7	Addl. D.G.P. P.C.R. Mumbai	137	0.00	0	0	0	0.00	0.00	0.00
8	Addl. D.G.P., Wireless, Pune	1692	0.00	0	0	0	0.00	0.00	0.00
9	S.P. Wireless, Pune	2	0.00	0	0	0	0.00	0.00	0.00
10	S.P. Wireless, Nagpur	2	0.00	0	0	0	0.00	0.00	0.00
11	S.P. Wireless, Mumbai	0	0.00	0	0	0	0.00	0.00	0.00
12	Spl. I.G.P. Force one, Mumbai	49	0.00	0	0	0	0.00	0.00	0.00
13	ADDL. D.G.P. S.R.P.F. Mumbai	0	0.00	0	0	0	0.00	0.00	0.00
14	SPL.I.G.P. S.R.P.F. Pune	1	0.00	0	0	0	0.00	0.00	0.00
15	SPL. I.G.P. S.R.P.F. Nagpur	0	0.00	0	0	0	0.00	0.00	0.00
16	S.R.P.F. Gr.I to XVI	7032	0.00	0	0	0	0.00	0.00	0.00
17	Addl. D.G.P. Training Mumbai	0	0.00	0	0	0	0.00	0.00	0.00
18	Director, MPA, Nasik	1140	0.00	0	0	0	0.00	0.00	0.00
19	Training centres (Total-XI)	983	0.00	0	0	0	0.00	0.00	0.00
20	Maharashtra State Human Right Commission, Mumbai	2	0.00	0	0	0	0.00	0.00	0.00
21	Principal U.O. Trg Centre Nagpur	1	0.00	0	0	0	0.00	0.00	0.00
22	Spl. IGP, SPU, MS, Mumbai	636	0.00	0	0	0	0.00	0.00	0.00
23	Dy. Director, DTS Nasik	7	0.00	0	0	0	0.00	0.00	0.00
24	Social Welfare Dept., (Thane/Pune/ Nasik/Aurangabad/ Nagpur/Amravati)	31	0.00	0	0	0	0.00	0.00	0.00
25	Spl. I.G.P. (P.A.W.)	0	0.00	0	0	0	0.00	0.00	0.00
26	Director, MIA, Pune.	16	0.00	0	0	0	0.00	0.00	0.00
27	SPL.I.G.P. M.T. Pune	148	0.00	0	0	0	0.00	0.00	0.00
28	IG., Prison, Pune	0	0.00	0	0	0	0.00	0.00	0.00
29	Prison, Mumbai	0	0.00	0	0	0	0.00	0.00	0.00
30	Prison, Nagpur	0	0.00	0	0	0	0.00	0.00	0.00
31	Ragiv Gandhi Health Scheme,Mumbai	0	0.00	0	0	0	0.00	0.00	0.00
32	SPL.I.G.P. M.T. Nagpur	2	0.00	0	0	0	0.00	0.00	0.00
33	Addl. D.G.P. ATS., Mumbai	139	0.00	0	0	0	0.00	0.00	0.00
34	Commandant General, Homegaurd & Director Civil Security M.S.Mumbai	0	0.00	0	0	0	0.00	0.00	0.00
35	Principal Secretary,H.D. MS. Mumbai	0	0.00	0	0	0	0.00	0.00	0.00
36	MD, MSPHW Corpn., Mumbai	0	0.00	0	0	0	0.00	0.00	0.00
37	Force One,Trg. Central, Mumbai	3	0.00	0	0	0	0.00	0.00	0.00
38	M.D., Maharashtra State Security Corporation, Mumbai	0	0.00	0	0	0	0.00	0.00	0.00
39	Director, R.T.I.(Mumbai/Pune/Nasik/ Aurangabad/Nagpur/Amaravati/Nandurbar/Gadchiroli	0	0.00	0	0	0	0.00	0.00	0.00
40	Shirdi Santhan	0	0.00	0	0	0	0.00	0.00	0.00
41	S.I.B.	0	0.00	0	0	0	0.00	0.00	0.00
42	Controller Of Legal Meteriology MSW	0	0.00	0	0	0	0.00	0.00	0.00
43	Vigilance And Security, M.S.E.D.Co. Ltd., Mumbai	0	0.00	0	0	0	0.00	0.00	0.00
44	Chief Vigillance Officer, MHADA, MS, Mumbai	0	0.00	0	0	0	0.00	0.00	0.00
45	Food & Drugs Admin. Mumbai	0	0.00	0	0	0	0.00	0.00	0.00
46	Rajbhavan,Mumbai	0	0.00	0	0	0	0.00	0.00	0.00
47	S.C. / S.T. Commission, Mumbai	3	0.00	0	0	0	0.00	0.00	0.00
48	Chief Security Officer, Sachivalaya, Mumbai	0	0.00	0	0	0	0.00	0.00	0.00
49	Sale Tax Officer, Mumbai	0	0.00	0	0	0	0.00	0.00	0.00
50	Addl.D.G.P.,SAG Mumbai	2	0.00	0	0	0	0.00	0.00	0.00
51	CEO MSRTC Mumbai	0	0.00	0	0	0	0.00	0.00	0.00
52	Addl.D.G.P Wireless, Mumbai	0	0.00	0	0	0	0.00	0.00	0.00
53	DIGP, M.T.Mumbai	0	0.00	0	0	0	0.00	0.00	0.00
54	M.T. Pune Range	0	0.00	0	0	0	0.00	0.00	0.00
55	M.T. Aurangabad Range	0	0.00	0	0	0	0.00	0.00	0.00
56	M.T.Boat Dept.Thane & Kokan Range	0	0.00	0	0	0	0.00	0.00	0.00
57	SP, Arms Branch	0	0.00	0	0	0	0.00	0.00	0.00
	Total other than Dists./Commrs (B)	**13650**	**0**	**0**	**0**	**0**	**0.00**	**0.00**	**0.00**
	Total of M.S. (A + B)	**112639**	**65**	**1336**	**168**	**2**	**2.45**	**1.31**	**3.76**

Source :- D.G.P. Office, M.S. Mumbai

प्रकरण - १९.१
पोलीस गृहनिर्माण

१९.अ.१ पोलीस मनुष्यबळ यास आवश्यक प्रोत्साहन तथा सोईसुविधा जसे वाहन, घर, वैदयकिय सुविधा, विमा इ. प्रकारच्या सोईसुविधा उपलब्ध करुन देवून या मनुष्यबळाकडून गुन्हयांचा नायनाट करणे शक्य होणार आहे. यासाठी विविध पोलीस अधिकारी / कर्मचारी यांना आवश्यक मुलभूत गरजेची साधने म्हणजेच निवासासाठी घरे / वाहने उपलब्ध करुन देण्याचा प्रकल्प १९७४ पासून हाती घेतला आहे. राज्यातील कार्यरत पोलीसबळ व त्यांच्यासाठी उपलब्ध असलेली घरे याची संवर्गनिहाय माहिती मा. पोमसं कार्यालय, मुंबई येथील कार्यासन क्र. २७ (ब) / २८ (ब -२) यांचेकडून उपलब्ध करुन घेवून या प्रकरणामध्ये समावेश केला आहे.

१९.अ.२ पोलीसांसाठी निवासी घरे :

बीपीआरडी च्या माहितीनूसार दि. ०१-०१-२०१२ प्रमाणे पोलीस निवासी घरांची राष्ट्रीय समाधान पातळी (National Satisfaction Level) ३२.९२% टक्के असून महाराष्ट्र राज्याची समाधन पातळी ४५.७५% आहे. राज्यातील पोलीस निवासस्थानाची समाधान पातळी राष्ट्रीय समाधान पातळीपेक्षा जास्त असली तरी सुक्ष्म विश्लेषण:अंती खालील बाबी लक्षात येतात.

नवीन प्रमाणकांनुसार २४.२९% घरे उपलब्ध आहेत. त्यामध्ये प्रामुख्याने जुनी परंतु प्रशस्त घरे ब-याच घटकांच्या ठिकाणी आहेत. बहुमजली इमारती २२० चौ. फु. चटई क्षेत्र असलेली ३१.६७% घरे आहेत. एकमजली जुन्या बैठया चाळीच्या इमारती १८० - २२० चौ. फु. चटई क्षेत्र असलेली ४३.५५% घरे आहेत. यातील बहुतांशी घरे संडास व्यवस्थेशिवाय आहेत. पोलीस उप निरीक्षक / पोलीस निरीक्षक या दर्जाच्या अधिका-याच्या निवासस्थानांची समाधान पातळी २९.४% आहे. महाराष्ट्र पोलीस दल हे देशातील सर्वात मोठे पोलीस दल आहे. महाराष्ट्र पोलीस यांचेसाठी निवासस्थानाची सध्यस्थिती खालील तक्ता क्र. १९.१.१ मध्ये दिलेली आहे.

Chapter - 19.1
Police Housing

19.A.1 Police manpower alone is not sufficient to curb the crime unless the personnel are motivated and facilitated with basic necessities such as equipment, transport, housing, medical insurance, etc. Therefore, a project has been started for availability of housing facility to various categories of police officials, availability of vehicles and sophisticated gadgets with the police, etc. in the year 1974. Information on the availability of police housing facility against the sanctioned police force for different categories is made available from desk No. 27(B) /28(B-2) D.G.P. Office, Mumbai

19.A.2 Residential Accomodation for Police :

According to the information of BPRD Dated 01-01-2012 the satisfaction level of police residential accomodation at National Level was 32.92% and for Maharashtra State it is 45.75%. Though, it is observed that Satisfaction Level in Maharashtra State is higher than National Level, while micro analysis some of the following obervations are to be noted :

As per new Satisfation Level Index, 24.29% houses are available which includes old but spacious houses at some of the units. 31.67% houses of 220 Sq. Ft. carpet area are available in Multi storage buildings. 43.55% houses of 180 - 220 Sq. Ft. carpet are available in single storage buildings without latrin facility. Satisfaction level of houses for PSI / PI is 29.4%. Maharashtra Police Manpower is the largest police force in the Country. The current status of Maharashtra Police housing is presented in the following Table 19.1.1.

Table 19.1.1

The Details Of Area Of Residential Accomodation Applicable To Maharashtra Police (Rankwise)

Designation	Area in Square Feet
1. Police Constable	409.032
2. Police Naik to Police sub Inspector	473.61
3. Asst. Police Inspector to Police Inspector	538.2
4. Dy. S.P. to Dy. Commissoner of Police	828.82
5. Selection Grade Superintendent of Police	1237.86
6. Superintendent of Police / Commandant, Head of Unit	1506.96
7. D.I.G.P.	1506.96
8. Spl.I.G.P. to D.G.P.	1937.52

Source -: O.W.NO.DGP/44/12013/PLANNING RESEIDENTIAL- NON-RESIDENTIAL BUILDINGS /14/13, MUMBAI, DTD. 15/02/2014

महाराष्ट्र शासनाने दि.१७/११/०९ रोजी परिपत्रक क्रं.R.S.A- ०६ /No.४३२/पोल-७ नुसार ८० % शासकीय निवासी समाधान पातळीचे उद्दीष्ट निश्चित केले आहे. शासकीय निवासाबाबतची माहिती तक्ता क्रं.९.१.२ मध्ये दर्शविण्यात आली आहे.

Govt. of Maharashtra had issued a circular No. RSA-0609/ NO. 432/POL-7/ Dtd.17/11/2009 by which Govt. had decided to achieve 80% accomodation satisfaction level. According to this Government Resolution, the satisfaction level of residential accomodation to the sanctioned police strength is shown in following Table 9.1.2

Table 19.1.2

Sr. No.	Rank	Sanctioned Strength	Number of Available Residential Accomodation	To achieve 80% Satisfaction Level requirement of Residential Accomodation
1	PSI & Above	17021	5665	7952
2	ASI, HC, PN & PC	194536	80850	74779
Total		**211557**	**86515**	**82731**

१९.अ.३ वरील तक्ता क्र .१९.१.२ मध्ये महाराष्ट्र पोलीस दलातील मंजूर व कार्यरत मनुष्यबळाची माहिती दर्शविली आहे. एकुण मंजूर २११५५७ मनुष्यबळापैकी ८६५१५ (४०.८९%) मनुष्यबळासाठी शासनाने निवासी घरांची उपलब्धता केली आहे. पोलीस अधिकारी / कर्मचारी यांना उपलब्ध करुन दिलेल्या ८६५१५ निवासी घरापैकी ५६६५ (६.५५%) घरे ही अधिका-यासाठी (उपनिरीक्ष व वरील) तथा उर्वरित ८०८५० (९३.४५%) घरे पोलीस कर्मचा-यांसाठी (पोलीस हवालदार, पोलीस नाईक, पोलीस शिपाई) उपलब्ध आहेत. गृहविभाग, महाराष्ट्र शासन यांचा शासन निर्णय दि. १७-११-२००९ नुसार किमान ८०% समाधान पातळी चे उद्दिष्ट साध्य करण्यासाठी ८२७३१ नवीन घरांची निर्मीती करावी लागेल. यापैकी ७९५२ नवीन घरांची निर्मीती ही अधिका-यासाठी तर ७४७७९ नवीन घ्ररांची निर्मीती ही पोलीस कर्मचा-यांसाठी करावी लागेल.

19.A.3 Out of the total sanctioned strength of 211557, the Govt. has provided 86515 (40.89%) residential accomodations. Out of 86515 residential accomodation provided by Govt., 5665 (6.55%) residential accomodation are provided to officers (PSI & Above) and 80850 (93.45%) to subordinates (ASI, HC, PN, PC). To achieve target of 80% satisfaction level of residential accomodation total requirement of accomodation is 82731. Out of the requirement 82731 (To achieve 80% Satisfaction Level requirement) residential accomodation required for officers (PSI & above) is 7952 and that of subordinates is 74779.

प्रकरण - २०

अकस्मात मृत्यू व आत्महत्या

२०.१ अकस्मात मृत्यू :

२०.१.१ महाराष्ट्रामध्ये २०१५ साली पोलिसांनी हाताळलेली अकस्मात मृत्यूंची (अपघाती मृत्यूंसह) घटक निहाय माहिती तक्ता क्र. ९९ मध्ये नमूद आहे.

२०.१.२ महाराष्ट्रामध्ये २०१५ साली पोलिसांनी अकस्मात मृत्यूंची एकूण ६४५६६ प्रकरणे हाताळली तर २०१४ मध्ये ६७०२८ प्रकरणे हाताळली होती. सन २०१५ मध्ये २०१४ च्या तुलनेत २४६२ प्रकरणांची म्हणजे ३.६७% ने घट झाली आहे.

२०.१.३ सन २०१५ मधील एकुण ६४५६६ अकस्मात मृत्युच्या प्रकरणांपैकी नैसर्गिक मृत्यु ४५० झाल्याचे आढळून आले. ५१४३५ अकस्मात मृत्यू अनैसर्गिक कारणांमुळे व १२६८१ इतर कारणामुळे उदा. विमान दुर्घटना, इमारत, धरण, पूल अशा स्वरूपाची बांधकामे पडणे, बोट दुर्घटना, स्फोट व वेगवेगळया कारणांमुळे लागलेल्या आगी इत्यादीमुळे झालेले आहेत.

२०.१.४ राज्यामध्ये सर्वांत जास्त मुंबई शहरात ८२८६ व त्यापाठोपाठ पुणे शहर ४६६५, पुणे ग्रामीण ३५९९, मुंबई रेल्वे ३२६३ व ठाणे शहर ३०७९ या घटकांना सर्वाधिक अकस्मात मृत्यूंची प्रकरणे हाताळावी लागली.

२०.२ रस्त्यावरील अपघात :

२०.२.१ महाराष्ट्रामध्ये सन २०१५ मध्ये रस्त्यावर घडलेल्या अपघातांच्या घटना, त्यामध्ये जखमी व मृत्यू पावलेल्या व्यक्ती यांची घटक निहाय माहिती तक्ता क्र. १०० मध्ये देण्यात आलेली आहे.

२०.२.२ सन २०१५ मध्ये रस्त्यावरील अपघातांच्या ४२२५० घटना घडल्या. या अपघातांमध्ये १३६८५ व्यक्ती मृत्यू पावल्या तर ३९३०१ व्यक्ती जखमी झाल्या. या तुलनेत सन २०१४ मध्ये रस्त्यावरील अपघातांच्या ४४३८२ घटना घडल्या होत्या. या अपघातांमध्ये १३५२९ व्यक्ती मृत्यू पावल्या तर ४३६६८ व्यक्ती जखमी झाल्या. सन २०१५ मध्ये २०१४ च्या तुलनेत २१३२ अपघातांनी म्हणजे ४.८०% ने घट झाली, तर अपघातांमधील जखमी व्यक्तींमध्ये ४३६७ ने म्हणजे १०% घट, तर मृत्यू पावलेल्या व्यक्तींमध्ये १५६ ने म्हणजे १.१५% ने वाढ झाली.

CHAPTER - 20

ACCIDENTAL DEATHS & SUICIDES

20.1 Accidental Deaths :

20.1.1 Unit-wise information on accidental deaths inquired by Police in Maharashtra during 2015 is given in Table No. 99.

20.1.2 During 2015, Police inquired 64566 accidental deaths as compared to 67028 during 2014. There is an decrease by 2462 (3.67%) incidences during the year 2015 as compared to year 2014.

20.1.3 Out of total 64566 Accidental Deaths, 450 Accidental Deaths were due to natural causes. Remaining 51435 accidental deaths were due to un-natural causes and 12681 were due to other causes like air - crash, collapse of various structures (building, dam, bridge etc.) , boat accidendts, explosions and fire due to various reasons.

20.1.4 In the State, Mumbai (C) inquired maximum number of Accidental Deaths i.e. 8286, followed by Pune (C) 4665, Pune (R) 3599, Mumbai Rly 3263 and Thane (C) 3079.

20.2 Road Accidents :

20.2.1 Unit-wise information on number of road accidents cases - persons injured and persons killed in the State during 2015 is given in Table No.100.

20.2.2 During 2015, there were 42250 road accidents, in which 13685 persons have been killed and 39301 persons have been injured, as compared to 44382 road accidents during 2014 in which 13529 persons have been killed and 43668 persons have been injured. Thus there is an decrease by 2132 accidents, i.e. 4.80% during 2015 as compared to 2014. There is a decrease in number of persons injured by 4367, i.e. 10% and an increase in number of persons killed by 156 persons, which amounts to 1.15%.

२०.२.३ रस्त्यावरील अपघातांच्या सर्वाधिक घटना औरंगाबाद शहर ३१२३ रस्त्यावरील अपघातामध्ये २०८ व्यक्ती मृत्यू पावल्या. रस्त्यावरील अपघातामध्ये मुंबई शहर २५५१, पुणे ग्रामीण २३२३, नाशिक ग्रामीण २२८१ व नवी मुबई २२२३ असा क्रम आहे. त्यामध्ये अनुक्रमे ६११, ११०५, ८१२ व ३६२ व्यक्ती मृत्यू पावल्या.

20.2.3 The highest number of road accidents in the State occurred in Aurangabad (C) 3123 road accidents in which 208 persons killed, followed by Mumbai (C) 2551 road accidents, Pune (R) 2323 road accidents, Nasik (R) 2281 road accidents and Navi Mumbai 2223 road accidents. In these road accidents 611, 1105, 812 and 362 persons have been killed respectively.

२०.२.४ रस्त्यावरील अपघातांमध्ये विविध वाहनांकरवी झालेल्या मृत्यूंची घटक निहाय माहिती तक्ता क्र. १०१ मध्ये नमूद केली आहे. २०१५ मधील १३६८५ मृत्यूंपैकी सर्वाधिक मृत्यू म्हणजे ५६३२ मृत्यू दुचाकी वाहनामुळे झालेले आहेत. हे प्रमाण ४१.१५% आहे. त्या खालोखाल २२५२ म्हणजे १६.४६% खाजगी ट्रक / लॉरी या वाहनांमुळे झालेले आहेत.

20.2.4 Unit-wise information on road accident deaths according to the type of vehicles involved is given in Table No. 101. During the year 2015, out of total 13685 road accident deaths, the highest number of accidental deaths, i.e. 5632, were due to two wheeler vehicles which contributes 41.15%, followed by 2252, i.e. 16.46%, due to private truck/lorry.

२०.२.५ बऱ्याचवेळा पादचाऱ्यास / सायकलस्वारास / इतरास रस्त्यावर धडक देऊन वाहन निघून जाते व वाहन कोणते होते हे निश्चित सांगता येत नाही. अशा प्रकारच्या घटनांमध्ये मृत्यू पावलेल्या व्यक्तींची संख्या तक्ता क्र. १०१ च्या स्तंभ क्र.३२, ४१ व ४४ मध्ये नमूद करण्यात आली आहे. प्राथमिकदृष्टया वाहन निश्चित न होऊ शकलेल्या अश्या प्रकारच्या अपघाती मृत्यूंची संख्या १४२९, म्हणजे एकुण रस्त्यावरील अपघाती मृत्यूंच्या १०.४४ % आहे.

20.2.5 Very often a vehicle dashes a pedestrian / cyclist / other vehicle and gets away. Vehicle causing accident cannot be identified (Hit & Run cases). Number of deaths in such accidents are given in Col. No. 32, 41 and 44 of Table No. 101. The number of such accidental deaths is 1429, i.e. 10.44% of total road accident deaths.

२०.३ आत्महत्या :

२०.३ राज्यात २०१५ साली घडलेल्या आत्महत्यांची घटक निहाय माहिती तक्ता क्र. १०२ मध्ये दिली आहे. महाराष्ट्रात २०१५ साली १६९७० व्यक्तींनी म्हणजे १२६५४ पुरूष, ४३१४ स्त्रियांनी व २ लिंग परिवर्तीत लोकांनी आत्महत्या केल्या. २०१४ साली १६३०४ व्यक्तींनी म्हणजे ११८२८ पुरूष, ४४७६ स्त्रियांनी व ३ लिंग परिवर्तीत लोकांनी आत्महत्या केल्या होत्या. २०१५ मध्ये २०१४ च्या तुलनेत एकूण आत्महत्यांमध्ये ६६३ ने म्हणजे ४.०७% वाढ झाली. पुरूषांच्या आत्महत्यांच्या प्रमाणात ६.९८% ने वाढ तर स्त्रियांच्या आत्महत्यांच्या प्रमाणात ३.६२ % ने घट झाली आहे.

20.3 Suicide :

20.3 Unit-wise information on Suicidal Deaths during 2015 is given in Table No. 102. In Maharashtra, 16970 persons (including 12654 male, 4314 female and 2 Transgender) committed suicides during 2015 as compared to 16304 (including 11828 male, 4476 female and 3 Transgender) during 2014. Thus, there is a increase by 663, i.e. 4.07% in suicides during 2015 as compared to 2014. Number of males commiting suicides shows 6.98% increase, and females by 3.62% decrease respectively.

२०.४ अनोळखी / बेवारस प्रेतांची संख्या :

२०.४ पोलीसांना मिळालेल्या अनोळखी / बेवारस प्रेतांची मरणोत्तर चौकशी पोलीस करतात. राज्यात २०१५ मध्ये एकूण ६१८५ अनोळखी / बेवारस प्रेते मिळाली होती. २०१४ मध्ये अशा प्रकारची ४८६० प्रेते मिळाली होती. सन २०१५ मध्ये मिळालेल्या अशा प्रेतांची घटक निहाय संख्या तक्ता क्र. १०३ मध्ये देण्यात आली आहे.

20.4 Unidentified / Unclaimed Dead Bodies

20.4 Police often recover unidentified dead bodies and conduct inquest. During 2015, police recovered 6185 unidentified dead bodies, as compared to 4860 unidentified dead bodies during 2014. Unit-wise information of unidentified dead bodies during 2015 is given in Table No.103.

तक्ता क्र. ९९

अकस्मात मृत्यू (नैसर्गिक, अनैसर्गिक व ईतर कारणांमुळे) - २०१५

TABLE NO. 99

Accidental Deaths (Natural, Un-Natural & Other Causes) - 2015

Sr. No.	Unit.	Natural Cause	Un-Natural Cause	Other Cause	Total
1	Akola	13	533	169	715
2	Amravati Rural	25	781	142	948
3	Buldhana	12	784	157	953
4	Yavatmal	24	1092	206	1322
5	Washim	13	247	41	301
*	**Amravati Range**	**87**	**3437**	**715**	**4239**
6	Aurangabad Rural	20	703	246	969
7	Jalna	11	455	53	519
8	Beed	13	815	167	995
9	Osmanabad	14	694	206	914
*	**Aurangabad Range**	**58**	**2667**	**672**	**3397**
10	Nanded	24	759	145	928
11	Latur	14	655	58	727
12	Parbhani	13	387	76	476
13	Hingoli	10	273	49	332
*	**Nanded Range**	**61**	**2074**	**328**	**2463**
14	Kolhapur	7	1149	448	1604
15	Pune Rural	1	2818	780	3599
16	Sangli	7	1100	234	1341
17	Satara	1	775	268	1044
18	Solapur Rural	14	1009	244	1267
*	**Kolhapur Range**	**30**	**6851**	**1974**	**8855**
19	Bhandara	9	517	78	604
20	Chandrapur	27	800	70	897
21	Nagpur Rural	40	1179	96	1315
22	Wardha	16	629	189	834
*	**Nagpur Range**	**92**	**3125**	**433**	**3650**
23	Gadchiroli	9	290	52	351
24	Gondia	9	491	160	660
*	**Gadchiroli Range**	**18**	**781**	**212**	**1011**
25	Ahmednagar	10	1826	649	2485
26	Dhule	8	743	124	875
27	Jalgaon	21	1236	723	1980
28	Nasik Rural	17	1708	487	2212
29	Nandurbar	14	316	101	431
*	**Nasik Range**	**70**	**5829**	**2084**	**7983**
30	Raigad	5	741	392	1138
31	Ratnagiri	11	716	160	887
32	Sindhudurg	3	317	110	430
33	Thane Rural	4	1023	159	1186
34	Palghar	6	1567	224	1797
*	**Thane Range**	**29**	**4364**	**1045**	**5438**
35	Mumbai Railway	0	3062	201	3263
36	Pune Railway	0	564	287	851
37	Nagpur Railway	0	1073	53	1126
*	**Railway Range**	**0**	**4699**	**541**	**5240**
38	Nagpur Commr.	2	763	329	1094
39	Pune Commr.	0	3596	1069	4665
40	Thane Commr.	0	2691	388	3079
41	Mumbai Commr.	0	6765	1521	8286
42	Nasik Commr.	1	913	462	1376
43	Aurangabad Commr.	0	530	365	895
44	Solapur Commr.	0	701	34	735
45	Navi Mumbai	0	1309	428	1737
46	Amravati Commr.	2	340	81	423
*	**Total Commrs.**	**5**	**17608**	**4677**	**22290**
*	**Total of M.S**	**450**	**51435**	**12681**	**64566**

तक्ता क्र. १००

एकुण रस्ते अपघात प्रकरणे व त्यातील जखमी / मृत व्यक्ती (घटक निहाय) सन- २०१५

Table No. 100

Number Of Road Accident Cases - Persons Injured - Persons Killed - 2015 (Unit-Wise)

Sr. No.	Unit	Number Of Cases	Persons Injured	Persons killed
1	Akola	527	537	140
2	Amravati Rural	1249	1067	281
3	Buldhana	672	712	361
4	Yavatmal	989	649	268
5	Washim	314	350	128
*	**Amravati Range**	**3751**	**3315**	**1178**
6	Aurangabad Rural	578	465	300
7	Jalna	409	341	181
8	Beed	589	458	286
9	Osmanabad	648	882	327
*	**Aurangabad Range**	**2224**	**2146**	**1094**
10	Nanded	679	580	259
11	Latur	599	379	250
12	Parbhani	316	322	131
13	Hingoli	288	449	116
*	**Nanded Range**	**1882**	**1730**	**756**
14	Kolhapur	1129	1254	322
15	Pune Rural	2323	1875	1105
16	Sangli	931	989	381
17	Satara	641	719	173
18	Solapur Rural	1085	1005	530
*	**Kolhapur Range**	**6109**	**5842**	**2511**
19	Bhandara	461	647	175
20	Chandrapur	649	788	257
21	Nagpur Rural	1066	1305	449
22	Wardha	498	534	192
*	**Nagpur Range**	**2674**	**3274**	**1073**
23	Gadchiroli	199	294	122
24	Gondia	298	323	132
*	**Gadchiroli Range**	**497**	**617**	**254**
25	Ahmednagar	784	1162	875
26	Dhule	1207	1443	343
27	Jalgaon	900	969	468
28	Nasik Rural	2281	2272	812
29	Nandurbar	587	722	175
*	**Nasik Range**	**5759**	**6568**	**2673**
30	Raigad	1423	1218	351
31	Ratnagiri	995	1348	173
32	Sindhudurg	357	435	76
33	Thane Rural	1458	1205	270
34	Palghar	1813	1252	519
*	Thane Range	6046	5458	1389
35	Mumbai Railway	0	0	0
36	Pune Railway	0	0	0
37	Nagpur Railway	0	0	0
*	**Railway Range**	**0**	**0**	**0**
38	Nagpur Commr.	1397	1196	317
39	Pune Commr.	1553	1050	543
40	Thane Commr.	1267	1106	288
41	Mumbai Commr.	2551	2289	611
42	Nasik Commr.	247	47	260
43	Aurangabad Commr.	3123	2915	208
44	Solapur Commr.	365	327	98
45	Navi Mumbai	2223	856	362
46	Amravati Commr.	582	565	70
*	**Total Commrs.**	**13308**	**10351**	**2757**
*	**Total of M.S**	**42250**	**39301**	**13685**

तक्ता क्र. १०१

सन २०१५ मधील वाहन प्रकारानुसार रस्ते अपघातातील मृत व्यक्तींची संख्या (घटक निहाय)

TABLE NO.101

Number of Persons Died in Road Accidents and Mode of Transport (Culpability vis-à-vis Fatality) – 2015

Sr. No.	Unit	Truck/Lorry			Bus			SUV/Station Wagon/etc.		
		Offenders	Victims	Total	Offenders	Victims	Total	Offenders	Victims	Total
1	2	3	4	5	6	7	8	9	10	11
1	Akola	4	27	31	3	0	3	0	0	0
2	Amravati Rural	1	6	7	0	4	4	1	7	8
3	Buldhana	12	31	43	6	4	10	0	1	1
4	Yavatmal	5	30	35	0	9	9	0	10	10
5	Washim	7	1	8	0	0	0	0	0	0
*	**Amravati Range**	**29**	**95**	**124**	**9**	**17**	**26**	**1**	**18**	**19**
6	Aurangabad Rural	4	73	77	0	16	16	0	4	4
7	Jalna	7	7	14	2	2	4	0	0	0
8	Beed	17	29	46	2	6	8	0	1	1
9	Osmanabad	1	6	7	0	9	9	0	2	2
*	**Aurangabad Range**	**29**	**115**	**144**	**4**	**33**	**37**	**0**	**7**	**7**
10	Nanded	0	101	101	0	24	24	0	4	4
11	Latur	86	0	86	15	0	15	21	0	21
12	Parbhani	0	3	3	0	0	0	0	0	0
13	Hingoli	4	2	6	0	0	0	0	0	0
*	**Nanded Range**	**90**	**106**	**196**	**15**	**24**	**39**	**21**	**4**	**25**
14	Kolhapur	5	63	68	1	9	10	0	5	5
15	Pune Rural	56	90	146	24	19	43	29	14	43
16	Sangli	3	27	30	0	11	11	1	8	9
17	Satara	11	13	24	0	10	10	0	0	0
18	Solapur Rural	7	64	71	0	14	14	0	21	21
*	**Kolhapur Range**	**82**	**257**	**339**	**25**	**63**	**88**	**30**	**48**	**78**
19	Bhandara	2	32	34	0	9	9	0	0	0
20	Chandrapur	4	73	77	0	14	14	0	0	0
21	Nagpur Rural	8	87	95	0	23	23	0	1	1
22	Wardha	8	6	14	3	3	6	0	0	0
*	**Nagpur Range**	**22**	**198**	**220**	**3**	**49**	**52**	**0**	**1**	**1**
23	Gadchiroli	1	16	17	0	5	5	0	0	0
24	Gondia	1	11	12	1	1	2	0	2	2
*	**Gadchiroli Range**	**2**	**27**	**29**	**1**	**6**	**7**	**0**	**2**	**2**
25	Ahmednagar	16	28	44	0	4	4	9	14	23
26	Dhule	6	7	13	0	1	1	0	0	0
27	Jalgaon	9	108	117	2	32	34	2	13	15
28	Nasik Rural	22	181	203	4	32	36	1	6	7
29	Nandurbar	25	7	32	0	2	2	0	0	0
*	**Nasik Range**	**78**	**331**	**409**	**6**	**71**	**77**	**12**	**33**	**45**
30	Raigad	8	20	28	3	21	24	0	0	0
31	Ratnagiri	16	27	43	1	11	12	3	5	8
32	Sindhudurg	1	0	1	1	0	1	0	0	0
33	Thane Rural	4	8	12	0	3	3	0	0	0
34	Palghar	56	27	83	3	15	18	0	4	4
*	**Thane Range**	**85**	**82**	**167**	**8**	**50**	**58**	**3**	**9**	**12**
35	Mumbai Railway	0	0	0	0	0	0	0	0	0
36	Pune Railway	0	0	0	0	0	0	0	0	0
37	Nagpur Railway	0	0	0	0	0	0	0	0	0
*	**Railway Range**	**0**	**0**	**0**	**0**	**0**	**0**	**0**	**0**	**0**
38	Nagpur Commr.	40	57	97	4	10	14	3	0	3
39	Pune Commr.	10	89	99	4	34	38	2	6	8
40	Thane Commr.	55	37	92	6	8	14	1	0	1
41	Mumbai Commr.	15	82	97	10	46	56	1	6	7
42	Nasik Commr.	4	63	67	0	9	9	0	1	1
43	Aurangabad Commr.	0	19	19	0	5	5	0	11	11
44	Solapur Commr.	3	14	17	0	2	2	0	0	0
45	Navi Mumbai	8	116	124	0	18	18	0	3	3
46	Amravati Commr.	6	6	12	0	0	0	1	0	1
*	**Total Commrs.**	**141**	**483**	**624**	**24**	**132**	**156**	**8**	**27**	**35**
*	**Total of M.S**	**558**	**1694**	**2252**	**95**	**445**	**540**	**75**	**149**	**224**

तक्ता क्र. १०१ (चालू)

TABLE NO.101 (Continued)

Sr. No.	Unit	Car			Jeep			Tractor		
		Offenders	Victims	Total	Offenders	Victims	Total	Offenders	Victims	Total
1	2	12	13	14	15	16	17	18	19	20
1	Akola	1	4	5	1	4	5	1	7	8
2	Amravati Rural	6	54	60	13	15	28	0	0	0
3	Buldhana	12	16	28	3	17	20	0	10	10
4	Yavatmal	1	10	11	3	17	20	2	13	15
5	Washim	3	9	12	3	1	4	0	0	0
*	**Amravati Range**	**23**	**93**	**116**	**23**	**54**	**77**	**3**	**30**	**33**
6	Aurangabad Rural	2	17	19	0	12	12	4	15	19
7	Jalna	8	8	16	6	8	14	2	0	2
8	Beed	20	14	34	13	12	25	8	7	15
9	Osmanabad	3	12	15	0	5	5	2	5	7
*	**Aurangabad Range**	**33**	**51**	**84**	**19**	**37**	**56**	**16**	**27**	**43**
10	Nanded	0	18	18	2	9	11	0	16	16
11	Latur	14	0	14	16	0	16	0	0	0
12	Parbhani	1	3	4	2	4	6	4	0	4
13	Hingoli	4	5	9	0	0	0	0	0	0
*	**Nanded Range**	**19**	**26**	**45**	**20**	**13**	**33**	**4**	**16**	**20**
14	Kolhapur	10	34	44	1	15	16	4	23	27
15	Pune Rural	54	56	110	31	49	80	4	6	10
16	Sangli	4	15	19	1	13	14	3	14	17
17	Satara	13	17	30	0	2	2	0	3	3
18	Solapur Rural	2	21	23	6	68	74	4	51	55
*	**Kolhapur Range**	**83**	**143**	**226**	**39**	**147**	**186**	**15**	**97**	**112**
19	Bhandara	0	15	15	1	19	20	2	8	10
20	Chandrapur	2	8	10	0	13	13	0	0	0
21	Nagpur Rural	8	31	39	2	32	34	0	13	13
22	Wardha	6	4	10	2	0	2	1	2	3
*	**Nagpur Range**	**16**	**58**	**74**	**5**	**64**	**69**	**3**	**23**	**26**
23	Gadchiroli	0	6	6	0	2	2	5	14	19
24	Gondia	2	7	9	0	2	2	1	2	3
*	**Gadchiroli Range**	**2**	**13**	**15**	**0**	**4**	**4**	**6**	**16**	**22**
25	Ahmednagar	16	52	68	7	9	16	2	6	8
26	Dhule	2	11	13	3	11	14	0	0	0
27	Jalgaon	2	7	9	1	29	30	2	5	7
28	Nasik Rural	20	91	111	2	16	18	11	27	38
29	Nandurbar	2	17	19	2	11	13	0	2	2
*	**Nasik Range**	**42**	**178**	**220**	**15**	**76**	**91**	**15**	**40**	**55**
30	Raigad	10	31	41	7	20	27	0	19	19
31	Ratnagiri	6	21	27	0	5	5	1	1	2
32	Sindhudurg	3	9	12	0	0	0	0	0	0
33	Thane Rural	4	45	49	0	18	18	0	0	0
34	Palghar	34	18	52	5	6	11	0	0	0
*	**Thane Range**	**57**	**124**	**181**	**12**	**49**	**61**	**1**	**20**	**21**
35	Mumbai Railway	0	0	0	0	0	0	0	0	0
36	Pune Railway	0	0	0	0	0	0	0	0	0
37	Nagpur Railway	0	0	0	0	0	0	0	0	0
*	**Railway Range**	**0**	**0**	**0**	**0**	**0**	**0**	**0**	**0**	**0**
38	Nagpur Commr.	11	20	31	2	5	7	0	1	1
39	Pune Commr.	11	67	78	2	9	11	0	0	0
40	Thane Commr.	12	15	27	1	4	5	0	0	0
41	Mumbai Commr.	28	102	130	1	2	3	0	0	0
42	Nasik Commr.	1	32	33	0	3	3	0	2	2
43	Aurangabad Commr.	0	15	15	2	11	13	0	2	2
44	Solapur Commr.	2	5	7	1	9	10	0	0	0
45	Navi Mumbai	4	46	50	1	4	5	1	0	1
46	Amravati Commr.	2	2	4	1	5	6	0	0	0
*	**Total Commrs.**	**71**	**304**	**375**	**11**	**52**	**63**	**1**	**5**	**6**
*	**Total of M.S**	**346**	**990**	**1336**	**144**	**496**	**640**	**64**	**274**	**338**

तक्ता क्र. १०१ (चालू)

TABLE NO.101 (Continued)

Sr. No.	Unit	Three Wheeler/Auto Rickshaw			Two Wheeler			Other Motor Vehicles		
		Offenders	Victims	Total	Offenders	Victims	Total	Offenders	Victims	Total
1	2	21	22	23	24	25	26	27	28	29
1	Akola	1	6	7	34	8	42	4	3	7
2	Amravati Rural	4	30	34	82	53	135	0	0	0
3	Buldhana	7	13	20	54	152	206	1	5	6
4	Yavatmal	2	25	27	80	34	114	7	16	23
5	Washim	8	8	16	52	13	65	0	0	0
*	**Amravati Range**	**22**	**82**	**104**	**302**	**260**	**562**	**12**	**24**	**36**
6	Aurangabad Rural	0	11	11	17	93	110	0	0	0
7	Jalna	4	5	9	34	57	91	2	2	4
8	Beed	10	12	22	46	33	79	17	39	56
9	Osmanabad	1	35	36	15	158	173	2	0	2
*	**Aurangabad Range**	**15**	**63**	**78**	**112**	**341**	**453**	**21**	**41**	**62**
10	Nanded	3	21	24	8	49	57	0	0	0
11	Latur	15	0	15	72	0	72	11	0	11
12	Parbhani	4	12	16	4	63	67	0	0	0
13	Hingoli	1	10	11	28	9	37	2	3	5
*	**Nanded Range**	**23**	**43**	**66**	**112**	**121**	**233**	**13**	**3**	**16**
14	Kolhapur	0	3	3	67	79	146	0	0	0
15	Pune Rural	11	16	27	236	308	544	10	19	29
16	Sangli	0	4	4	44	160	204	2	2	4
17	Satara	0	0	0	54	47	101	0	0	0
18	Solapur Rural	1	42	43	5	84	89	0	20	20
*	**Kolhapur Range**	**12**	**65**	**77**	**406**	**678**	**1084**	**12**	**41**	**53**
19	Bhandara	0	5	5	21	53	74	0	1	1
20	Chandrapur	1	5	6	28	70	98	0	0	0
21	Nagpur Rural	0	11	11	29	138	167	3	12	15
22	Wardha	14	8	22	56	20	76	11	0	11
*	**Nagpur Range**	**15**	**29**	**44**	**134**	**281**	**415**	**14**	**13**	**27**
23	Gadchiroli	1	0	1	23	37	60	0	12	12
24	Gondia	1	3	4	30	29	59	0	0	0
*	**Gadchiroli Range**	**2**	**3**	**5**	**53**	**66**	**119**	**0**	**12**	**12**
25	Ahmednagar	6	8	14	353	95	448	0	5	5
26	Dhule	1	10	11	9	172	181	2	25	27
27	Jalgaon	12	21	33	126	97	223	0	0	0
28	Nasik Rural	0	4	4	120	93	213	1	59	60
29	Nandurbar	1	15	16	52	13	65	0	2	2
*	**Nasik Range**	**20**	**58**	**78**	**660**	**470**	**1130**	**3**	**91**	**94**
30	Raigad	9	24	33	97	49	146	2	15	17
31	Ratnagiri	0	1	1	42	22	64	0	0	0
32	Sindhudurg	1	3	4	39	6	45	2	0	2
33	Thane Rural	0	6	6	0	141	141	0	14	14
34	Palghar	3	7	10	151	27	178	0	1	1
*	**Thane Range**	**13**	**41**	**54**	**329**	**245**	**574**	**4**	**30**	**34**
35	Mumbai Railway	0	0	0	0	0	0	0	0	0
36	Pune Railway	0	0	0	0	0	0	0	0	0
37	Nagpur Railway	0	0	0	0	0	0	0	0	0
*	**Railway Range**	**0**	**0**	**0**	**0**	**0**	**0**	**0**	**0**	**0**
38	Nagpur Commr.	0	8	8	61	64	125	2	2	4
39	Pune Commr.	2	8	10	117	139	256	1	1	2
40	Thane Commr.	5	5	10	70	54	124	4	3	7
41	Mumbai Commr.	6	15	21	61	85	146	5	100	105
42	Nasik Commr.	1	7	8	29	95	124	0	1	1
43	Aurangabad Commr.	0	11	11	22	98	120	0	0	0
44	Solapur Commr.	0	2	2	1	52	53	0	0	0
45	Navi Mumbai	0	10	10	12	76	88	2	31	33
46	Amravati Commr.	2	4	6	5	21	26	0	0	0
*	**Total Commrs.**	**16**	**70**	**86**	**378**	**684**	**1062**	**14**	**138**	**152**
*	**Total of M.S**	**138**	**454**	**592**	**2486**	**3146**	**5632**	**93**	**393**	**486**

तक्ता क्र. १०१ (चालू)

TABLE NO.101 (Continued)

Sr. No	Unit	Bicycle			Hand Drawn Vehicle/ Cycle Rickshaw			Animal Drawn Vehicle		
		Offenders	Victims	Total	Offenders	Victims	Total	Offenders	Victims	Total
1	2	30	31	32	33	34	35	36	37	38
1	Akola	0	0	0	0	0	0	0	0	0
2	Amravati Rural	2	1	3	0	0	0	0	0	0
3	Buldhana	0	0	0	0	0	0	0	0	0
4	Yavatmal	0	0	0	0	0	0	0	0	0
5	Washim	0	0	0	0	0	0	0	0	0
*	**Amravati Range**	**2**	**1**	**3**	**0**	**0**	**0**	**0**	**0**	**0**
6	Aurangabad Rural	0	0	0	0	0	0	0	0	0
7	Jalna	0	0	0	0	0	0	0	0	0
8	Beed	0	0	0	0	0	0	0	0	0
9	Osmanabad	0	2	2	0	0	0	0	0	0
*	**Aurangabad Range**	**2**	**3**	**5**	**0**	**0**	**0**	**0**	**0**	**0**
10	Nanded	0	0	0	0	0	0	0	0	0
11	Latur	0	0	0	0	0	0	0	0	0
12	Parbhani	0	2	2	0	0	0	0	1	1
13	Hingoli	6	0	6	0	0	0	0	0	0
*	**Nanded Range**	**6**	**2**	**8**	**0**	**0**	**0**	**0**	**1**	**1**
14	Kolhapur	0	0	0	0	0	0	0	0	0
15	Pune Rural	3	0	3	0	0	0	0	0	0
16	Sangli	0	6	6	0	0	0	0	2	2
17	Satara	0	0	0	0	0	0	0	0	0
18	Solapur Rural	0	89	89	0	0	0	0	0	0
*	**Kolhapur Range**	**3**	**95**	**98**	**0**	**0**	**0**	**0**	**2**	**2**
19	Bhandara	0	0	0	0	0	0	0	0	0
20	Chandrapur	0	0	0	0	0	0	0	0	0
21	Nagpur Rural	0	0	0	0	0	0	0	0	0
22	Wardha	4	0	4	0	0	0	0	0	0
*	**Nagpur Range**	**4**	**0**	**4**	**0**	**0**	**0**	**0**	**0**	**0**
23	Gadchiroli	0	0	0	0	0	0	0	0	0
24	Gondia	12	11	23	0	0	0	0	0	0
*	**Gadchiroli Range**	**12**	**11**	**23**	**0**	**0**	**0**	**0**	**0**	**0**
25	Ahmednagar	13	0	13	0	0	0	0	0	0
26	Dhule	0	8	8	0	0	0	0	2	2
27	Jalgaon	0	0	0	0	0	0	0	0	0
28	Nasik Rural	0	6	6	0	0	0	0	0	0
29	Nandurbar	0	0	0	0	0	0	0	0	0
*	**Nasik Range**	**13**	**14**	**27**	**0**	**0**	**0**	**0**	**2**	**2**
30	Raigad	3	0	3	0	0	0	0	0	0
31	Ratnagiri	1	0	1	0	0	0	0	0	0
32	Sindhudurg	0	0	0	0	0	0	0	0	0
33	Thane Rural	0	5	5	0	0	0	0	0	0
34	Palghar	21	1	22	0	0	0	1	0	1
*	**Thane Range**	**25**	**6**	**31**	**0**	**0**	**0**	**1**	**0**	**1**
35	Mumbai Railway	0	0	0	0	0	0	0	0	0
36	Pune Railway	0	0	0	0	0	0	0	0	0
37	Nagpur Railway	0	0	0	0	0	0	0	0	0
*	**Railway Range**	**0**	**0**	**0**	**0**	**0**	**0**	**0**	**0**	**0**
38	Nagpur Commr.	1	2	3	0	0	0	0	0	0
39	Pune Commr.	0	3	3	0	0	0	0	0	0
40	Thane Commr.	0	0	0	0	0	0	0	0	0
41	Mumbai Commr.	0	1	1	0	0	0	0	0	0
42	Nasik Commr.	0	0	0	0	0	0	0	0	0
43	Aurangabad Commr.	0	1	1	0	0	0	0	0	0
44	Solapur Commr.	0	1	1	0	0	0	0	0	0
45	Navi Mumbai	0	0	0	0	0	0	0	0	0
46	Amravati Commr.	1	3	4	1	0	1	0	0	0
*	**Total Commrs.**	**2**	**11**	**13**	**1**	**0**	**1**	**0**	**0**	**0**
*	**Total of M.S**	**69**	**143**	**212**	**1**	**0**	**1**	**1**	**5**	**6**

तक्ता क्र. १०१ (पूर्ण)

TABLE NO.101 (concluded)

Sr. No.	Unit	Pedestrian			Others			Grand Total		
		Offenders	Victims	Total	Offenders	Victims	Total	Offenders	Victims	Total
1	2	39	40	41	42	43	44	45	46	47
1	Akola	0	32	32	0	0	0	49	91	140
2	Amravati Rural	0	2	2	0	0	0	109	172	281
3	Buldhana	0	17	17	0	0	0	95	266	361
4	Yavatmal	3	0	3	1	0	1	104	164	268
5	Washim	0	23	23	0	0	0	73	55	128
*	**Amravati Range**	**3**	**74**	**77**	**1**	**0**	**1**	**430**	**748**	**1178**
6	Aurangabad Rural	0	24	24	0	8	8	27	273	300
7	Jalna	8	10	18	2	7	9	75	106	181
8	Beed	0	0	0	0	0	0	133	153	286
9	Osmanabad	0	69	69	0	0	0	24	303	327
*	**Aurangabad Range**	**8**	**103**	**111**	**2**	**15**	**17**	**261**	**836**	**1097**
10	Nanded	0	4	4	0	0	0	13	246	259
11	Latur	0	0	0	0	0	0	250	0	250
12	Parbhani	0	28	28	0	0	0	15	116	131
13	Hingoli	0	42	42	0	0	0	45	71	116
*	**Nanded Range**	**0**	**74**	**74**	**0**	**0**	**0**	**323**	**433**	**756**
14	Kolhapur	0	3	3	0	0	0	88	234	322
15	Pune Rural	27	29	56	4	10	14	489	616	1105
16	Sangli	0	59	59	1	1	2	59	322	381
17	Satara	0	3	3	0	0	0	78	95	173
18	Solapur Rural	0	15	15	0	16	16	25	505	530
*	**Kolhapur Range**	**27**	**109**	**136**	**5**	**27**	**32**	**739**	**1772**	**2511**
19	Bhandara	0	0	0	0	7	7	26	149	175
20	Chandrapur	0	0	0	5	34	39	40	217	257
21	Nagpur Rural	0	40	40	0	11	11	50	399	449
22	Wardha	33	11	44	0	0	0	138	54	192
*	**Nagpur Range**	**33**	**51**	**84**	**5**	**52**	**57**	**254**	**819**	**1073**
23	Gadchiroli	0	0	0	0	0	0	30	92	122
24	Gondia	0	16	16	0	0	0	48	84	132
*	**Gadchiroli Range**	**0**	**16**	**16**	**0**	**0**	**0**	**78**	**176**	**254**
25	Ahmednagar	10	219	229	0	3	3	432	443	875
26	Dhule	0	67	67	0	6	6	23	320	343
27	Jalgaon	0	0	0	0	0	0	156	312	468
28	Nasik Rural	0	116	116	0	0	0	181	631	812
29	Nandurbar	24	0	24	0	0	0	106	69	175
*	**Nasik Range**	**34**	**402**	**436**	**0**	**9**	**9**	**898**	**1775**	**2673**
30	Raigad	0	5	5	2	6	8	141	210	351
31	Ratnagiri	0	10	10	0	0	0	70	103	173
32	Sindhudurg	0	11	11	0	0	0	47	29	76
33	Thane Rural	0	22	22	0	0	0	8	262	270
34	Palghar	28	111	139	0	0	0	302	217	519
*	**Thane Range**	**28**	**159**	**187**	**2**	**6**	**8**	**568**	**821**	**1389**
35	Mumbai Railway	0	0	0	0	0	0	0	0	0
36	Pune Railway	0	0	0	0	0	0	0	0	0
37	Nagpur Railway	0	0	0	0	0	0	0	0	0
*	**Railway Range**	**0**	**0**	**0**	**0**	**0**	**0**	**0**	**0**	**0**
38	Nagpur Commr.	0	17	17	0	7	7	124	193	317
39	Pune Commr.	9	18	27	0	11	11	158	385	543
40	Thane Commr.	5	3	8	0	0	0	159	129	288
41	Mumbai Commr.	0	45	45	0	0	0	127	484	611
42	Nasik Commr.	0	0	0	0	12	12	35	225	260
43	Aurangabad Commr.	0	11	11	0	0	0	24	184	208
44	Solapur Commr.	0	5	5	0	1	1	7	91	98
45	Navi Mumbai	0	12	12	0	18	18	28	334	362
46	Amravati Commr.	0	10	10	0	0	0	19	51	70
*	**Total Commrs.**	**14**	**121**	**135**	**0**	**49**	**49**	**681**	**2076**	**2757**
*	**Total of M.S**	**147**	**1109**	**1256**	**15**	**158**	**173**	**4232**	**9456**	**13688**

तक्ता क्र. १०२
राज्यातील सन २०१५ मधील आत्महत्या (घटक निहाय)
Table No. 102
Suicidal Deaths In The State During - 2015 (Unit-Wise)

Sr. No.	Unit	No. Of Suicidal Deaths			
		Male	Female	Transgender	Total
1	Akola	314	64	0	378
2	Amravati Rural	528	147	0	675
3	Buldhana	473	160	0	633
4	Yavatmal	595	155	0	750
5	Washim	140	24	0	164
*	**Amravati Range**	**2050**	**550**	**0**	**2600**
6	Aurangabad Rural	280	62	0	342
7	Jalna	104	150	0	254
8	Beed	373	103	0	476
9	Osmanabad	323	109	0	432
*	**Aurangabad Range**	**1080**	**424**	**0**	**1504**
10	Nanded	369	96	0	465
11	Latur	175	57	0	232
12	Parbhani	185	61	0	246
13	Hingoli	84	19	0	103
*	**Nanded Range**	**813**	**233**	**0**	**1046**
14	Kolhapur	397	111	0	508
15	Pune Rural	476	134	0	610
16	Sangli	379	154	0	533
17	Satara	353	99	0	452
18	Solapur Rural	359	123	0	482
*	**Kolhapur Range**	**1964**	**621**	**0**	**2585**
19	Bhandara	188	51	0	239
20	Chandrapur	307	107	0	414
21	Nagpur Rural	324	95	0	419
22	Wardha	305	80	0	385
*	**Nagpur Range**	**1124**	**333**	**0**	**1457**
23	Gadchiroli	95	33	0	128
24	Gondia	108	31	0	139
*	**Gadchiroli Range**	**203**	**64**	**0**	**267**
25	Ahmednagar	373	108	0	481
26	Dhule	270	68	0	338
27	Jalgaon	622	138	0	760
28	Nasik Rural	380	134	0	514
29	Nandurbar	119	57	0	176
*	**Nasik Range**	**1764**	**505**	**0**	**2269**
30	Raigad	144	46	0	190
31	Ratnagiri	119	51	0	170
32	Sindhudurg	82	27	0	109
33	Thane Rural	148	87	0	235
34	Palghar	267	140	0	407
*	**Thane Range**	**760**	**351**	**0**	**1111**
35	Mumbai Railway	37	4	0	41
36	Pune Railway	13	4	0	17
37	Nagpur Railway	37	4	0	41
*	**Railway Range**	**87**	**12**	**0**	**99**
38	Nagpur Commr.	361	122	0	483
39	Pune Commr.	637	236	0	873
40	Thane Commr.	383	180	1	564
41	Mumbai Commr.	728	393	1	1122
42	Nasik Commr.	189	77	0	266
43	Aurangabad Commr.	136	25	0	161
44	Solapur Commr.	107	81	0	188
45	Navi Mumbai	129	80	0	209
46	Amravati Commr.	139	27	0	166
*	**Total Commrs.**	**2809**	**1221**	**2**	**4032**
*	**Total of M.S**	**12654**	**4314**	**2**	**16970**

तक्ता क्र. १०३

सन २०१५ मध्ये अनोळखी / बेवारस प्रेतांची मरणोत्तर चौकशी

Table No. 103

Unidentified Dead Bodies Recovered And Inquest Conducted During - 2015

Sr. No.	Unit	Dead Bodies
1	Akola	27
2	Amravati Rural	21
3	Buldhana	32
4	Yavatmal	17
5	Washim	8
*	**Amravati Range**	**105**
6	Aurangabad Rural	12
7	Jalna	79
8	Beed	24
9	Osmanabad	32
*	**Aurangabad Range**	**147**
10	Nanded	105
11	Latur	23
12	Parbhani	35
13	Hingoli	12
*	**Nanded Range**	**175**
14	Kolhapur	59
15	Pune Rural	292
16	Sangli	86
17	Satara	76
18	Solapur Rural	82
*	**Kolhapur Range**	**595**
19	Bhandara	20
20	Chandrapur	13
21	Nagpur Rural	52
22	Wardha	32
*	**Nagpur Range**	**117**
23	Gadchiroli	9
24	Gondia	28
*	**Gadchiroli Range**	**37**
25	Ahmednagar	34
26	Dhule	59
27	Jalgaon	109
28	Nasik Rural	135
29	Nandurbar	42
*	**Nasik Range**	**379**
30	Raigad	66
31	Ratnagiri	41
32	Sindhudurg	12
33	Thane Rural	71
34	Palghar	168
*	**Thane Range**	**358**
35	Mumbai Railway	1010
36	Pune Railway	363
37	Nagpur Railway	410
*	**Railway Range**	**1783**
38	Nagpur Commr.	106
39	Pune Commr.	355
40	Thane Commr.	440
41	Mumbai Commr.	1083
42	Nasik Commr.	209
43	Aurangabad Commr.	54
44	Solapur Commr.	75
45	Navi Mumbai	143
46	Amravati Commr.	24
*	**Total Commrs.**	**2489**
*	**Total of M.S**	**6185**

प्रकरण क्र. २१

ज्येष्ठ नागरीकांबाबत घडलेले गुन्हे सन २०१५

प्रस्तावना:-

२१.१.१ भारतीय समाजात ज्येष्ठ नागरीकांची त्यांचे नातेवाईकानी काळजी घेणे व संरक्षण करणे या गोष्टीला अत्यंत महत्व आहे. एकत्र कुटुंब पध्दतीच्या -हासामुळे जेष्ठ नागरीकांच्या/वयस्काच्या समस्यांमध्ये आणखीणच भर पडली आहे. सध्याच्या युगात त्यांना एकटे राहणे भाग पडत असल्याने त्यांना शारीरीक, सामाजिक, भावनिक व आर्थिक पाठबळ न मिळणे अशा समस्यांना सामोरे जावे लागत आहे.

२१.१.२ या समस्यांवर मात करणे व नवीन आव्हानांना सामोरे जाता यावे याकरीता भारत सरकारने मेंटेनन्स अॅण्ड वेलफेअर ऑफ पॅरेंटस अॅण्ड सिनिअर सिटिझन अॅक्ट, २००७ लागु केला आहे. या कायदयान्वये ज्येष्ठ नागरीकांची त्यांचे नातेवाईकानी देखभाल व संरक्षण करणे आवश्यक आहे. सन २०११ मध्ये ज्येष्ठ नागरीकांचे प्रमाण एकुण लोकसंख्येच्या ८.३% इतके असून हे प्रमाण २०२६ पर्यंत १२.४०% पर्यंत वाढण्याची शक्यता आहे.

ज्येष्ठ नागरीकांचेबाबत गुन्हयांच्या घटना :-

२१.२.१ तक्ता क्रं. १०४ हे ज्येष्ठ नागरीकांबाबत सन २०१५ मध्ये शीर्षनिहाय दाखल झालेले गुन्हे दर्शविते. ज्येष्ठ नागरीकाबाबत सन २०१५ मध्ये ४५६१ गुन्हे दाखल झालेले आहेत. मुंबई शहरामध्ये सर्वाधिक (११२१) गुन्हे दाखल असून त्यापाठोपाठ पुणे शहर (३४०) व वर्धा (२१०) गुन्हे दाखल झालेले आहेत. सिंधुदुर्ग, पुणे रेल्वे आणि नागपूर रेल्वे येथे एकही गुन्हा दाखल नाही.

२१.२.२ खून

सन २०१५ मध्ये एकुण १६७ खुनाचे गुन्हे दाखल असून ज्येष्ठ नागरीकांबाबत एकुण दाखल गुन्हयांशी हे प्रमाण ३.६६% इतके आहे. सर्वाधिक खुनाचे (१६) गुन्हे पुणे ग्रामीण येथे दाखल असून त्यापाठोपाठ अमरावती ग्रामीण (९) व नांदेड, सांगली आणि गडचिरोली या घटकात प्रत्येकी (८) गुन्हे दाखल झाले आहेत.

Chapter No. 21

Crime committed against Senior Citizens 2015

Introduction :-

21.1.1 Indian society lay high importance on providing care & protection for parents & elderly. Withering of joint family system has contributed to the challenges faced by the elderly. Now-a-days they are forced to live alone and are exposed to various kinds of problems such as lack of physical, social, emotional and financial support.

21.1.2 To overcome such difficulties and to face new challenges, the Government of India has enacted Maintanance & Welfare of Parents and Senior Citizens Act, 2007, so as to provide Maintanance and Protection to parents and senior citizens. The population of senior citizens constituted 8.3% of the total population in 2011. This figure is projected to go up to 12.40% of the population by 2026.

Incidents of offences against senior Citizens

21.2.1 Table number 104, represents the crime head-wise incidences reported by Senior Citizens during 2015. Total number of 4561 cases have been reported by senior citizens during the year 2015. Maximum number of cases are registered in Mumbai City (1121) followed by Pune (C) (340) and Wardha (210). No cases are reported in Sindhudurg, Pune Rly. and Nagpur Rly.

21.2.2 Murder

Total 167 cases of Murder of Senior Citizens are reported during the year 2015 (3.66% of the total crimes against senior citizens). Maximum cases of murder are reported in Pune Rural (16), followed by Amravati Rural (9), Nanded, Sangli & Gadchiroli (8) each.

२१.२.३ खूनाचा प्रयत्न

सन २०१५ मध्ये खूनाच्या प्रयत्नाचे एकुण ६२ गुन्हे दाखल असुन हे प्रमाण ज्येष्ठ नागरीकांबाबत एकुण दाखल गुन्हयांशी १.३६% इतके आहे. पुणे शहर व नांदेड या घटकात प्रत्येकी (५) गुन्हे दाखल असून त्यापाठोपाठ परभणी, कोल्हापूर, पुणे ग्रामीण व अहमदनगर या घटकात प्रत्येकी (४) गुन्हे दाखल आहेत.

21.2.3 Attempt to Commit Murder

Total 62 cases are reported during the year 2015 (1.36% of the total crimes reported by senior citizens). Maximum cases are registered in Pune (C) & Nanded (5) followed by Parbhani, Kolhapur, Pune (R), Ahmednagar (4) each.

२१.२.४ बलात्कार

सन २०१५ मध्ये ज्येष्ठ नागरीकांबाबत बलात्काराचे ९ गुन्हे दाखल आहेत व एकुण दाखल गुन्हयांशी हे प्रमाण ०.२०% इतके आहे. बुलढाणा व सातारा येथे सर्वाधिक (२) गुन्हे दाखल झाले आहेत.

21.2.4 Rape

Total 9 cases of Rape are reported during the year 2015 which shares 0.20% of the total crimes reported regarding senior citizens. Maximum Rape cases are registered in Buldhana & Satara (2) each.

२१.२.५ दरोडा

सन २०१५ मध्ये ज्येष्ठ नागरीकांबाबत दरोडयाचे २७ गुन्हे दाखल असुन हे प्रमाण एकुण दाखल गुन्हयाशी ०.६०% इतके आहे. अहमदनगर व जळगांव घटकामध्ये सर्वाधिक प्रत्येकी (५) गुन्हे दाखल असून त्यापाठोपाठ मुंबई शहर (४) व हिंगोली (३) असा क्रम आहे.

21.2.5 Dacoity

Total 27 cases of Dacoity have been reported regarding senior citizens during the year 2015 which shares 0.60% of the total crimes reported regarding senior citizens. Maximum cases are reported in Ahmednagar & Jalgaon (5) each followed by Mumbai (C) (4) and Hingoli (3).

२१.२.६ जबरी चोरी

सन २०१५ मध्ये ज्येष्ठ नागरीकांबाबत जबरी चोरीचे ७१८ गुन्हे दाखल असून एकुण दाखल गुन्हयांशी हे प्रमाण १५.७४% इतके आहे. मुंबई शहर येथे सर्वाधिक (१७२) गुन्हे दाखल असून त्यापाठोपाठ ठाणे शहर (१६३), पुणे शहर (८७) व नागपूर शहर (३३) असे गुन्हे दाखल आहेत.

21.2.6 Robbery

Total 718 cases of robbery have been reported during the year 2015 regarding senior citizens which shares 15.74% of the total cases reported regarding senior citizens. Maximum cases of robbery have been reported in Mumbai (C) (172) followed by Thane (C) (163) and Pune (C) (87) Nagpur (C) (33).

२१.२.७ गंभीर दुखापत

सन २०१५ मध्ये ज्येष्ठ नागरीकांबाबत गंभीर दुखापतीचे ३६९ गुन्हे दाखल असून एकुण दाखल गुन्हयांशी हे प्रमाण ८.०९% इतके आहे. अमरावती ग्रामीण येथे सर्वाधिक ८७ गुन्हे दाखल असून त्यापाठोपाठ मुंबई शहर (३२) व कोल्हापूर (२७) असे गुन्हे दाखल आहेत.

21.2.7 Grievous Hurt

Total 369 cases of Grievous Hurt have been reported during the year 2015 regarding senior citizens which shares 8.09% of the total crimes reported regarding senior citizens. Maximum cases of Grievous Hurt are reported in Amravati (R) (87) followed by Mumbai (C) (32) and Kolhapur (27).

२१.२.८ खंडणी

सन २०१५ मध्ये जेष्ठ नागरीकांबाबत खंडणीचे १९ गुन्हे दाखल असून एकुण दाखल गुन्हयांशी हे प्रमाण ०.४२% इतके आहे. मुंबई शहर येथे सर्वाधिक ९ गुन्हे दाखल आहेत.

21.2.8 Extortion

Total 19 cases of extortion have been reported during the year 2015 regarding senior citizens which shaers 0.42% of the total crimes reported regaarding senior citizens. Maximum cases reported in Mumbai (C) (9).

२१.२.९ फसवणुक

सन २०१५ मध्ये ज्येष्ठ नागरीकांबाबत फसवणुकीचे ६२७ गुन्हे दाखल असून एकुण दाखल गुन्हयांशी हे प्रमाण १३.७५% इतके आहे. मुंबई शहर येथे सर्वाधिक (३०९) गुन्हे दाखल असुन त्यापाठोपाठ ठाणे शहर (४२) व पुणे शहर व औरंगाबाद शहर येथे प्रत्येकी (२९) गुन्हे दाखल आहेत.

21.2.9 Cheating

Total 627 cases of cheating have been reported during the year 2015 regarding senior citizens which shares 13.75% of the total crimes reported regarding senior citizens. Maximum cases are reported in Mumbai (C) (309) followed by Thane (C) (42), Pune (C) & Aurangabad (C) (29) each.

२१.२.१० इतर भादंवि गुन्हे

सन २०१५ मध्ये ज्येष्ठ नागरीकांबाबत इतर भादवि या शीर्षाखाली २५५२ गुन्हे दाखल असून एकुण दाखल गुन्हयांशी हे प्रमाण ५५.९५% इतके आहे. मुंबई शहर येथे सर्वाधिक (५८७) गुन्हे दाखल असुन त्यापाठोपाठ वर्धा (१७५) व ठाणे शहर (१३१) असे गुन्हे दाखल आहेत.

21.2.10 Other IPC Crimes

Total 2552 cases of other IPC Crimes have been reported during the year 2015 regarding senior citizens which shares 55.95% of the total crimes reported regarding senior citizens. Maximum cases are reported in Mumbai (C) (587) followed by Wardha (175), Thane (C) (131).

२१.३.१ तक्ता क्र. १०५ हे ज्येष्ठ नागरीकांबाबतचे पोलीसांकडून सन २०१५ मध्ये शीर्षनिहाय निर्गती झालेले गुन्हे दर्शवितो. सन २०१५ मध्ये ज्येष्ठ नागरीकांबाबत ४५६१ गुन्हयाच्या घटना घडलेल्या असून १९९३ गुन्हे सन २०१४ अखेर तपासावर प्रलंबित होते. त्यामध्ये इतर भादंविचे ९२१ (४६.२%) गुन्हे तपासावर प्रलंबित आहेत. त्यापाठोपाठ जबरी चोरीचे ३७३ (१८.७१%) व फसवणुकीचे ४९५ (२४.८४%) गुन्हे तपासावर प्रलंबित आहेत.

21.3.1 Table No. 105 represents crime head-wise disposal of cases by police of crimes committed regarding senior citizens during 2015. Total 4561 cases have been reported during the year 2015 regarding senior citizens. 1993 cases are pending on investigation for year 2014. Total 921 cases (46.21%) of other IPC crimes are pending on investigation from previous year 2014, followed by Cheating 495 (24.84%) and Robbery 373 (18.71%)

२१.३.२ शीर्षनिहाय गुन्हे

ज्येष्ठ नागरीकांबाबतच्या एकुण ४५६१ गुन्हयांपैकी इतर भादंविच्या गुन्हयांची संख्या सर्वाधिक २५५२(५५.९६%) इतकी असून त्यापाठोपाठ फसवणुक ६२७ (१३.७५%) आणि जबरी चोरी ७१८ (१५.७४%) हे गुन्हे आहेत.

21.3.2 Head-wise crimes :-

Out of 4561 cases registered in the year 2015, other IPC crimes were 2552 (55.96%), which is maximum, followed by Robbery 718 (15.74%) cheating 627 (13.75%) have been committed regarding senior citizens.

२१.३.३ तपासावरील गुन्हे

सन २०१५ मध्ये एकुण ६५५३ गुन्हे हे तपासावर असून फसवणुकीचे सर्वाधिक ११२१ गुन्हे (१७.११%) तपासावर आहेत.

२१.३.४ एकुण ४५६१ गुन्हयांपैकी १३ गुन्हयांमध्ये अंतिम अहवाल खोटी तक्रार म्हणुन गुन्हयांची निर्गती करण्यात आलेली आहे.

२१.३.५ सन २०१५ मध्ये वस्तुस्थितीची चुक किंवा कायदयाची चुक अन्वये १३ गुन्हे (०.३२%), दोषारोपपत्र २३०६ गुन्हे (३५.१९%), अंतिम अहवाल सत्य म्हणुन ६८७ (१०.४८%) गुन्हयांची निर्गती करण्यात आलेली आहे.

२१.३.६ एकुण ३०३८ गुन्हे (४६.३६%) पोलीसांकडुन २०१५ अखेर निर्गती करण्यात आले. तसेच ३५१५ (५३.६४%) गुन्हे हे तपासावर प्रलंबित आहेत. ज्येष्ठ नागरीकांबाबतच्या गुन्हयात दोषारोपपत्र दाखल होण्याचे प्रमाण एकुण दाखल गुन्हयांशी ३५.१९% इतके असून गुन्हे प्रलंबित असण्याचे प्रमाण ५३.६४% इतके आहे.

२१.४.१ तक्ता क्रं.१०६ हे ज्येष्ठ नागरीकांबाबत दाखल व कोर्टाकडून निर्गती झालेले २०१५ मधील शीर्षनिहाय गुन्हे दर्शवितो.

२१.४.२ सन २०१४ च्या अखेरीस एकुण ५५६७ गुन्हे हे विविध न्यायालयामध्ये निर्णयासाठी प्रलंबित होते. एकुण ५५६७ गुन्हयांपैकी खुन ३८२ (६.२२%), खुनाचा प्रयत्न २०२ (३.६३%), जबरी चोरी ३४४ (६.१८%), गंभीर दुखापत ६९२ (१२.४३%), फसवणुक ३५७ (६.४१%) या शीर्षाखाली गुन्हे सन २०१४ पासून न्यायप्रविष्ठ होते.

21.3.3 Cases on Investigation :-

Total 6553 cases are on Investigation till the end of year 2015. Out of 6553 cases, 1121 (17.11%) cases of cheating are pending on investigation.

21.3.4 Out of 4561 cases, 13 cases are closed as final report found false.

21.3.5 Total 13 cases (0.32%) ended as mistake of fact or of law, chargsheet is submitted in 2306 cases (35.19%) and final report as true is submitted in 687 cases (10.48%) during the year 2015.

21.3.6 Total 3038 cases (46.36%) are disposed of by police at the end of the year 2015, 3515 (53.64%) cases are pending on investigation. The percentage of chargsheet submitted to the total cases is 35.19% and the percentage of cases pending is 53.64% in the year 2015.

21.4.1 Table No. 106 represents disposal of cases by courts for crimes committed regarding senior citizens (crime head wise) during the year 2015.

21.4.2 Total 5567 cases are pending on trial from the previous year 2014. Out of 5567 cases, Murder 382 (6.22%), Attempt to murder 202 (3.63%), Robbery 344 (6.18%), Grievous hurt 692 (12.43%), Cheating 357 (6.41%) are pending on trial from the previous year 2014.

२१.४.३ सन २०१५ मध्ये एकुण २३०६ केसेस कोर्ट ट्रायल साठी पाठविण्यात आल्या. या २३०६ गुन्हयांपैकी खून १३३ (५.७७%), जबरी चोरी २६२ (११.३६%), जबर दुखापत २९५ (१२.७९%), फसवणुक १४८ (६.४२%) व इतर भादवि गुन्हे १३७४ (५९.५८%) असे शीर्षनिहाय गुन्हे सन २०१५ मध्ये न्यायदानासाठी पाठविण्यात आले आहेत.

21.4.3 Total 2306 cases have been sent for trial during the year 2015. Out of 2306 cases, Murder 133 (5.77%), Robbery 262 (11.36%), Grievous hurt 295 (12.79%), Cheating 148 (6.42%), other IPC crimes 1374 (59.58%) have been sent for trial in the court during the year 2015.

२१.४.४ सन २०१५ मध्ये एकुण ७८७३ गुन्हे कोर्ट ट्रायलवर असुन ७८७३ गुन्हयांपैकी खुन ५१५ (६.५४%), खुनाचा प्रयत्न २५३ (३.२१%), जबरी चोरी ६०६ (७.७०%), जबर दुखापत ९८७ (१२.५३%), फसवणुक ५०५ (६.४२%) व इतर भादवि गुन्हे ४९१२ (६२.४१%) या शीर्षाखाली गुन्हे सन २०१५ मध्ये कोर्ट ट्रायलवर प्रलंबित आहेत.

21.4.4 Total 7873 cases are on court trial during the year 2015. Out of 7873 pending cases, Murder 515 (6.54%), Attempt to commit murder 253 (3.21%), Robbery 606 (7.70%), Grievous hurt 987 (12.53%), Cheating 505 (6.42%) and other IPC crimes 4912 (62.41%) cases are on court for trial during the year 2015.

२१.४.५ सन २०१५ मध्ये एकुण ४४२ गुन्हयांमध्ये न्यायप्रक्रिया पूर्ण होउन दोषसिध्दी ११५ (२६.०२%), दोषमुक्ती ३२७ (७३.९८%) इतक्या गुन्हयामध्ये झाली आहे व एकुण ७३८४ गुन्हे हे सन २०१५ अखेर कोर्ट ट्रायलवर प्रलंबित आहेत.

21.4.5 Total 442 case trials were completed by court, in which 115 cases (26.02%) are convicted, 327 cases (73.98%) are acquitted or discharged and total 7384 cases are pending for trial at the end of the year 2015.

तक्ता क्रमांक १०४

सन २०१५ मध्ये ज्येष्ठ नागरीकांविरुध्द दाखल विविध शिर्षनिहाय गुन्हे

Table-104

Incidence of Crimes Committed Against Senior Citizens During 2015

Sr. No.	UNIT	Murder (Section 302 IPC)	Attempt to commit Murder (Section 307 IPC)	Culpable Homicide not amounting to Murder (Section 304 IPC)	Attempt to Commit Culpable Homicide (Sec 308 IPC)	Rape (Section 376 IPC)	Dacoity (Section 395,396 & 398 IPC)			Making Preparation and Assembly for committing Dacoity (Section 399 & 420 IPC)
							Dacoity (Section 395,396 & 398 IPC)(Total)	Dacoity with Murder (Section 396 IPC)	Others	
1	Akola	6	1	0	0	0	0	0	0	0
2	Amravati Rural	9	1	0	0	0	0	0	0	0
3	Buldhana	2	1	0	0	2	1	0	1	0
4	Yavatmal	5	1	1	0	0	0	0	0	0
5	Washim	2	0	0	0	0	0	0	0	0
*	**Amravati Range**	**24**	**4**	**1**	**0**	**2**	**1**	**0**	**1**	**0**
6	Aurangabad Rural	2	2	0	0	0	1	0	1	0
7	Jalna	0	0	0	0	0	0	0	0	0
8	Beed	2	2	0	0	0	0	0	0	0
9	Osmanabad	5	3	0	0	0	0	0	0	0
*	**Aurangabad Range**	**9**	**7**	**0**	**0**	**0**	**1**	**0**	**1**	**0**
10	Nanded	8	5	1	0	1	0	0	0	0
11	Latur	3	0	0	0	0	0	0	0	0
12	Parbhani	2	4	1	0	0	0	0	0	0
13	Hingoli	2	0	0	0	0	3	0	3	0
*	**Nanded Range**	**15**	**9**	**2**	**0**	**1**	**3**	**0**	**3**	**0**
14	Kolhapur	7	4	0	0	1	0	0	0	0
15	Pune Rural	16	4	2	0	0	0	0	0	0
16	Sangli	8	2	0	0	0	0	0	0	0
17	Satara	5	3	0	0	2	0	0	0	0
18	Solapur Rural	6	1	1	0	0	0	0	0	0
*	**Kolhapur Range**	**42**	**14**	**3**	**0**	**3**	**0**	**0**	**0**	**0**
19	Bhandara	6	2	0	0	0	0	0	0	0
20	Chandrapur	4	0	1	0	1	0	0	0	0
21	Nagpur Rural	3	0	0	0	0	1	0	1	0
22	Wardha	4	0	0	0	0	0	0	0	0
*	**Nagpur Range**	**17**	**2**	**1**	**0**	**1**	**1**	**0**	**1**	**0**
23	Gadchiroli	8	0	0	0	0	0	0	0	0
24	Gondia	1	1	0	0	0	0	0	0	0
*	**Gadchiroli Range**	**9**	**1**	**0**	**0**	**0**	**0**	**0**	**0**	**0**
25	Ahmednagar	7	4	1	0	0	5	0	5	0
26	Dhule	2	1	0	0	0	1	0	1	0
27	Jalgaon	6	2	0	0	0	5	0	5	0
28	Nasik Rural	3	0	0	0	0	0	0	0	0
29	Nandurbar	0	0	0	0	0	0	0	0	0
*	**Nasik Range**	**18**	**7**	**1**	**0**	**0**	**11**	**0**	**11**	**0**
30	Raigad	3	1	0	0	1	0	0	0	0
31	Ratnagiri	3	0	0	0	0	0	0	0	0
32	Sindhudurg	0	0	0	0	0	0	0	0	0
33	Thane Rural	0	1	0	0	0	0	0	0	0
34	Palghar	4	0	1	0	1	1	0	1	0
*	**Thane Range**	**10**	**2**	**1**	**0**	**2**	**1**	**0**	**1**	**0**
35	Mumbai Railway	0	1	0	0	0	0	0	0	0
36	Pune Railway	0	0	0	0	0	0	0	0	0
37	Nagpur Railway	0	0	0	0	0	0	0	0	0
*	**Railway Range**	**0**	**1**	**0**	**0**	**0**	**0**	**0**	**0**	**0**
38	Nagpur Commr.	1	2	0	0	0	0	0	0	0
39	Pune Commr.	5	5	1	0	0	0	0	0	0
40	Thane Commr.	2	0	0	0	0	1	0	1	0
41	Mumbai Commr.	6	2	0	0	0	4	0	4	0
42	Nasik Commr.	2	2	0	0	0	2	0	2	0
43	Aurangabad Commr.	5	1	0	0	0	1	0	1	0
44	Solapur Commr.	0	1	0	0	0	1	0	1	0
45	Navi Mumbai	1	0	1	0	0	0	0	0	0
46	Amravati Commr.	1	2	0	0	0	0	0	0	0
*	**Total Commrs.**	**23**	**15**	**2**	**0**	**0**	**9**	**0**	**9**	**0**
*	**Total**	**167**	**62**	**11**	**0**	**9**	**27**	**0**	**27**	**0**

तक्ता क्रमांक १०४

सन २०१५ मध्ये ज्येष्ठ नागरीकांविरुध्द दाखल विविध शिर्षनिहाय गुन्हे

Table-104 (Concluded)

Incidence of Crimes Committed Against Senior Citizens During 2015

Sr. No.	UNIT	Robbery (Section 392 to 394, 397 and 398 IPC)	Grievous Hurt (325,326,326A & 326 B IPC)				Extortion (Section 384 IPC)	Cheating (Section 420 IPC)	Other IPC crimes	Total cognizable IPC crimes against senior Citizens (All "I" columns excluding sub heads)
			Grievous Hurt Total	Grievous Hurt	Acid attack (Section 326A IPC)	Attempt to Acid Attack (Section 326B IPC)				
1	Akola	9	8	8	0	0	0	5	78	107
2	Amravati Rural	0	87	87	0	0	0	0	23	120
3	Buldhana	5	1	1	0	0	0	1	77	90
4	Yavatmal	7	9	9	0	0	0	2	119	144
5	Washim	0	0	0	0	0	0	0	0	2
*	**Amravati Range**	**21**	**105**	**105**	**0**	**0**	**0**	**8**	**297**	**463**
6	Aurangabad Rural	0	6	6	0	0	0	0	20	31
7	Jalna	2	2	2	0	0	0	2	2	8
8	Beed	0	2	2	0	0	0	0	2	8
9	Osmanabad	0	0	0	0	0	0	0	2	10
*	**Aurangabad Range**	**2**	**10**	**10**	**0**	**0**	**0**	**2**	**26**	**57**
10	Nanded	6	21	21	0	0	1	4	105	152
11	Latur	0	0	0	0	0	0	0	0	3
12	Parbhani	2	10	10	0	0	0	5	83	107
13	Hingoli	2	2	2	0	0	0	1	19	29
*	**Nanded Range**	**10**	**33**	**33**	**0**	**0**	**1**	**10**	**207**	**291**
14	Kolhapur	18	27	27	0	0	0	17	57	131
15	Pune Rural	0	1	1	0	0	0	1	44	68
16	Sangli	6	15	15	0	0	2	6	45	84
17	Satara	12	16	16	0	0	1	14	114	167
18	Solapur Rural	3	5	5	0	0	0	2	53	71
*	**Kolhapur Range**	**39**	**64**	**64**	**0**	**0**	**3**	**40**	**313**	**521**
19	Bhandara	5	8	8	0	0	0	4	67	92
20	Chandrapur	2	0	0	0	0	0	4	9	21
21	Nagpur Rural	0	15	15	0	0	1	1	25	46
22	Wardha	4	16	16	0	0	0	11	175	210
*	**Nagpur Range**	**11**	**39**	**39**	**0**	**0**	**1**	**20**	**276**	**369**
23	Gadchiroli	0	4	4	0	0	1	1	13	27
24	Gondia	0	4	4	0	0	0	3	40	49
*	**Gadchiroli Range**	**0**	**8**	**8**	**0**	**0**	**1**	**4**	**53**	**76**
25	Ahmednagar	11	20	20	0	0	0	2	5	55
26	Dhule	3	3	3	0	0	0	2	6	18
27	Jalgaon	14	13	13	0	0	0	6	63	109
28	Nasik Rural	7	0	0	0	0	0	0	0	10
29	Nandurbar	2	3	3	0	0	0	1	12	18
*	**Nasik Range**	**37**	**39**	**39**	**0**	**0**	**0**	**11**	**86**	**210**
30	Raigad	2	0	0	0	0	0	8	1	16
31	Ratnagiri	9	2	2	0	0	0	3	19	36
32	Sindhudurg	0	0	0	0	0	0	0	0	0
33	Thane Rural	10	9	9	0	0	0	21	29	70
34	Palghar	10	2	2	0	0	1	22	49	91
*	**Thane Range**	**31**	**13**	**13**	**0**	**0**	**1**	**54**	**98**	**213**
35	Mumbai Railway	30	0	0	0	0	0	4	91	126
36	Pune Railway	0	0	0	0	0	0	0	0	0
37	Nagpur Railway	0	0	0	0	0	0	0	0	0
*	**Railway Range**	**30**	**0**	**0**	**0**	**0**	**0**	**4**	**91**	**126**
38	Nagpur Commr.	33	9	9	0	0	0	7	125	177
39	Pune Commr.	87	4	4	0	0	0	29	29	160
40	Thane Commr.	163	0	0	0	0	1	42	131	340
41	Mumbai Commr.	172	32	32	0	0	9	309	587	1121
42	Nasik Commr.	25	2	2	0	0	1	26	124	184
43	Aurangabad Commr.	24	6	6	0	0	0	29	33	99
44	Solapur Commr.	0	0	0	0	0	0	0	5	7
45	Navi Mumbai	28	2	2	0	0	1	18	34	85
46	Amravati Commr.	5	3	3	0	0	0	14	37	62
*	**Total Commrs.**	**537**	**58**	**58**	**0**	**0**	**12**	**474**	**1105**	**2235**
*	**Total**	**718**	**369**	**369**	**0**	**0**	**19**	**627**	**2552**	**4561**

तक्ता क्रमांक १०५

सन २०१५ मध्ये पोलिसांनी शिर्षनिहाय जेष्ठ नागरीकांविरुध्द केलेल्या गुन्हयांची निर्गतीची माहिती

Table-105

Disposal of Cases by Police of Crimes Committed Against Senior Citizens (Crime Head-wise) During 2015

Sr. No.	Crime Head	Cases pending investigation from previous year	Cases reported during the year (156(3) Cr.P.C. + Police Stations)	No. of cases withdrawn by the Govt. during investigation	Cases transferred to other Police Station/Magistrate	Total Cases for investigation (Col. 3+4 - 5 – 6)
1	2	3	4	5	6	7
1	Murder	69	167	0	0	236
2	Attempt to commit Murder	18	62	0	0	80
3	Culpable Homicide not amounting to Murder	3	11	0	0	14
4	Attempt to commit Culpable Homicide	0	0	0	0	0
5	Rape	5	9	0	0	14
6	Dacoity	8	27	0	0	35
6.1	Dacoity with Murder	0	0	0	0	0
6.2	Other Dacoity	8	27	0	0	35
7	Making Preparation and Assembly for committin Dacoity	0	0	0	0	0
8	Robbery	373	718	0	0	1091
9	Grievous Hurt	99	369	0	0	468
9.1	Grievous Hurt	99	369	0	0	468
9.2	Acid attack	0	0	0	0	0
9.3	Attempt to Acid Attack	0	0	0	0	0
10	Extortion	2	19	0	0	21
11	Cheating	495	627	0	1	1121
12	Other IPC crimes	921	2552	0	0	3473
Total cognizable IPC crimes against Senior Citizen		**1993**	**4561**	**0**	**1**	**6553**

Continued ….

Sr. No.	Crime Head	Cases not investigated U/S 157(1)(b) of Cr.PC	Cases ended as final report false	Cases ended as mistake of fact or of law	Cases in ended as final report as Non Cognizable Submitted during the year	Cases in which charge-sheets were submitted
1	2	8	9	10	11	12
1	Murder	0	1	0	1	133
2	Attempt to commit Murder	0	2	1	1	51
3	Culpable Homicide not amounting to Murder	0	0	0	0	6
4	Attempt to commit Culpable Homicide	0	0	0	0	0
5	Rape	0	0	0	0	9
6	Dacoity	0	2	0	0	19
6.1	Dacoity with Murder	0	0	0	0	0
6.2	Other Dacoity	0	2	0	0	19
7	Making Preparation and Assembly for committing Dacoity	0	0	0	0	0
8	Robbery	0	2	1	3	262
9	Grievous Hurt	0	0	0	1	295
9.1	Grievous Hurt	0	0	0	1	295
9.2	Acid attack	0	0	0	0	0
9.3	Attempt to Acid Attack	0	0	0	0	0
10	Extortion	0	0	0	0	9
11	Cheating	0	3	4	0	148
12	Other IPC crimes	0	3	7	13	1374
	Total cognizable IPC crimes against Senior Citizen	**0**	**13**	**13**	**19**	**2306**

तक्ता क्रमांक १०५

सन २०१५ मध्ये पोलिसांनी शिर्षनिहाय जेष्ठ नागरीकांविरुध्द केलेल्या गुन्हयांची निर्गतीची माहिती

Table-105

Disposal of Cases by Police of Crimes Committed Against Senior Citizens (Crime Head-wise) During 2015

Sr. No.	Crime Head	Cases in which charge-sheets were not laid but final report as True submitted during the year	Total cases Disposed off by police (Col. 8+ 9+10+11+12+13)	Cases pending investigation at the end of the year (col. 7 – col. 14)	Cases Chargesheet Rate {Col.12 /(12+13)} x 100	Cases Pendency Rate {Col.15/ (3+4)} x 100
1	2	13	14	15	16	17
1	Murder	8	143	93	94.3	39.4
2	Attempt to commit Murder	0	55	25	100.0	31.3
3	Culpable Homicide not amounting to Murder	2	8	6	75.0	42.9
4	Attempt to commit Culpable Homicide	0	0	0	0.0	0.0
5	Rape	0	9	5	100.0	35.7
6	Dacoity	0	21	14	100.0	40.0
6.1	Dacoity with Murder	0	0	0	0.0	0.0
6.2	Other Dacoity	0	21	14	100.0	40.0
7	Making Preparation and Assembly for committing Dacoity	0	0	0	0.0	0.0
8	Robbery	242	510	581	52.0	53.3
9	Grievous Hurt	2	298	170	99.3	36.3
9.1	Grievous Hurt	2	298	170	99.3	36.3
9.2	Acid attack	0	0	0	0.0	0.0
9.3	Attempt to Acid Attack	0	0	0	0.0	0.0
10	Extortion	0	9	12	100.0	57.1
11	Cheating	151	306	815	49.5	72.6
12	Other IPC crimes	282	1679	1794	83.0	51.7
Total cognizable IPC crimes against Senior Citizen		**687**	**3038**	**3515**	75.9	53.6

तक्ता क्रमांक १०६

सन २०१५ मध्ये न्यायालयाने शिर्षनिहाय जेष्ठ नागरीकांविरुध्द केलेल्या गुन्हयांची निर्गतीची माहिती

Table 106

Disposal of Cases by Courts For Crimes Committed Against Senior Citizens (Crime Head-wise) During 2015

Sr. No	Crime Head	Cases pending trial from the previous year	Cases sent for trial during the year	No. of cases withdrawn by the Govt.	No. Of cases disposed by Plea Bargaining.	Total no. Of cases for trial during the year Col.7=Col.3+4 – Col.5 – col. 6
1	2	3	4	5	6	7
1	Murder	382	133	0	0	515
2	Attempt to commit Murder	202	51	0	0	253
3	Culpable Homicide not amounting to Murder	13	6	0	0	19
4	Attempt to commit Culpable Homicide	0	0	0	0	0
5	Rape	11	9	0	0	20
6	Dacoity	21	19	0	0	40
6.1	Dacoity with Murder	2	0	0	0	2
6.2	Other Dacoity	19	19	0	0	38
7	Making Prep. and Assbly. for committing Dacoity	0	0	0	0	0
8	Robbery	344	262	0	0	606
9	Grievous Hurt	692	295	0	0	987
9.1	Grievous Hurt	692	295	0	0	987
9.2	Acid attack	0	0	0	0	0
9.3	Attempt to Acid Attack	0	0	0	0	0
10	Extortion	7	9	0	0	16
11	Cheating	357	148	0	0	505
12	Other IPC crimes	3538	1374	0	0	4912
	Total cognizable IPC crimes against Senior Citizen	**5567**	**2306**	**0**	**0**	7873

Continued …..

Sr. No	Crime Head	Cases compounded or withdrawn	Cases in which trials were completed (Col.9= Col. 10+11)	Cases convicted	Cases acquitted or discharged	Cases pending trial at the end of the year (Col.12 = Col.7 – (Col.8+9)
1	2	8	9	10	11	12
1	Murder	0	27	7	20	488
2	Attempt to commit Murder	0	9	2	7	244
3	Culpable Homicide not amounting to Murder	0	0	0	0	19
4	Attempt to commit Culpable Homicide	0	0	0	0	0
5	Rape	0	2	0	2	18
6	Dacoity	0	2	0	2	38
6.1	Dacoity with Murder	0	0	0	0	2
6.2	Other Dacoity	0	2	0	2	36
7	Making Preparation and Assembly for committing Dacoity	0	0	0	0	0
8	Robbery	0	56	33	23	550
9	Grievous Hurt	5	65	10	55	917
9.1	Grievous Hurt	5	65	10	55	917
9.2	Acid attack	0	0	0	0	0
9.3	Attempt to Acid Attack	0	0	0	0	0
10	Extortion	1	0	0	0	15
11	Cheating	0	17	4	13	488
12	Other IPC crimes	41	264	59	205	4607
	Total cognizable IPC crimes against Senior Citizen	**47**	**442**	**115**	**327**	**7384**

प्रकरण - २२
परदेशी व्यक्तीनी केलेले गुन्हे

२२.१ सन २०१५ मध्ये दखलपात्र गुन्हयांमध्ये (भादवि व विशेष स्थानिक कायदे) परदेशी अटक आरोपींची माहीती या प्रकरणामध्ये विश्लेषीत केली आहे.

२२.१.१. सन २०१५ मध्ये महाराष्ट्र राज्यात दखलपात्र गुन्हयांमध्ये (भादवि व विशेष स्थानिक कायदे) अटक परदेशी आरोपींची संख्या बाबतची माहीती तक्ता क्र.१०७ मध्ये दिलेली आहे.

२२.१.२ दखलपात्र गुन्हयांमध्ये (भा.द.वि व स्थानिक विशेष कायदे) सन २०१५ मध्ये एकुण १७६ परदेशी व्यक्तीना अटक करण्यात आली आहे. १७६ परदेशी व्यक्तीपैकी सर्वात जास्त एकुण ७९ व्यक्तीना नवी मुंबई शहरात अटक करण्यात आली आहे. त्यापाठोपाठ मुंबई शहर (५६), ठाणे शहर (१६), पुणे शहर (९) व नागपूर शहर (७) या घटकात परदेशी व्यक्तींना अटक करण्यात आली आहे. याचा हिस्सा एकुण अटक करण्यात आलेल्या व्यक्तीच्या ९४.८९ % आहे.

२२.१.३ पासपोर्ट कायदा, १९६७ या गुन्हे शिर्षकाखाली दाखल गुन्ह्यांमध्ये सर्वात जास्त परदेशी व्यक्तीना (८७) अटक करण्यात आली असून त्यापाठोपाठ इतर गुन्हे (२६), मादक व अंमली पदार्थ कायदा (२३) व फसवणुक (१५) या गुन्हे शिर्षकाखाली अटक करण्यात आली आहे याचा हिस्सा एकुण अटक केलेल्या परदेशी व्यक्तींच्या ८५.८०% आहे.

२२.२ पोलीस व न्यायालयाकडून परदेशी व्यक्तींनी केलेल्या गुन्हयांची निर्गती

२२.२.१ सन २०१५ मध्ये राज्यातील पोलीस व न्यायालयाकडून भादवि व विशेष स्थानिक कायदयाखालील शिर्षकानुसार परदेशी व्यक्तींनी केलेल्या गुन्हयांच्या निर्गतीची आकडेवारी तक्ता क्र. १०८ मध्ये देण्यात आली आहे.

२२.२.२ सन २०१५ मध्ये मागील वर्षाच्या प्रलंबित ४३ गुन्हयांसह वर्षाच्या शेवटी तपासावर प्रलंबित गुन्हयांची संख्या ६१ आहे त्यापैकी पासपोर्ट कायदा १९६७, या गुन्हे शिर्षकाखाली ३ (४.९२%) गुन्हे तपासावर प्रलंबित आहेत व फसवणुक (१२) व शस्त्र अधिनियम, १९५९ (११) या गुन्हे शिर्षकाखाली ४६.९२ % गुन्हे वर्षाच्या शेवटी तपासावर प्रलंबित आहेत.

२२.२.३ २०१५ मध्ये एकुण नोंद झालेले गुन्हे, तपासाकरिता असलेले गुन्हे व तपासलेले गुन्हे अनुक्रमे ८७ ,१३० व ६९ असे आहेत यापैकी पासपोर्ट कायदा १९६७ या गुन्हे शिर्षकाखाली २४.१४% गुन्हे नोद झाले, २०.७७ % गुन्हे तपासावर होते व ३४.७८% गुन्हे तपासले गेले आहेत.

२२.२.४ सन २०१५ मध्ये नोंद झालेल्या गुन्हयांमध्ये एकुण पिडीत व्यक्तींची संख्या ५९ आहे. इतर गुन्हे (२१) वगळता सर्वात जास्त पिडीत (१३) व्यक्तींची संख्या बनावटीकरण या गुन्हे शिर्षकाखाली असून त्यापाठोपाठ फसवणुक व विदेशी व्यक्ती अधिनियम, १९४६ प्रत्येकी (१२) आहे. या गुन्हे शिर्षकाखाली असलेल्या गुन्हयांमध्ये पिडीत आहेत याचा एकत्रित हिस्सा एकुण पिडीत व्यक्तींच्या ७७.९७ % आहे.

२२.२.५ सन २०१५ मध्ये एकुण ६८ गुन्हयांमध्ये दोषारोपपत्र दाखल करण्यात आले आहे त्यापैकी पासपोर्ट कायदा १९६७ या गुन्हे शिर्षकाखाली २४ गुन्हयांमध्ये दोषारोपपत्र दाखल आहे याचा हिस्सा एकुण दाखल दोषारोपपत्रांच्या ३५.२९ % आहे.

२२.२.६ सन २०१५ मध्ये मागील वर्षाच्या प्रलंबित ३६० खटल्यांसह एकूण सुनावणीसाठी असणा-या गुन्हयांची संख्या ४२८ होती व वर्षाचे शेवटी सुनावणीसाठी प्रलंबित असणा-या गुन्हयांची संख्या ३८६ आहे. त्यापैकी पासपोर्ट कायदा १९६७ या गुन्हे शिर्षकाखाली ३०४ (७१.०३%) गुन्हे मागील वर्षाच्या प्रलंबित खटल्यांसह सुनावणीसाठी प्रलंबित होते व त्यापैकी ४२ प्रकरणांमध्ये निकाल झाला असून २८४ (७३.५८%) प्रकरणे २०१५ वर्षाचे शेवटी सुनावणीसाठी विविध न्यायालयात प्रलंबित आहेत.

CHAPTER - 22
Crime committed by foreigners

22.1 Information of foreigners arrested under cognizable crimes (IPC & SLL) during 2015 is discussed in this chapter.

22.1.1 Table No.107 shows the details of number of foreigners arrested under cognizable crimes (IPC & SLL) during the year 2015.

22.1.2 Total 176 foreigners have been arrested under cognizable crimes (IPC & SLL) during 2015. Out of total 176 foreigners, highest number of foreigners have been arrested in Navi Mumbai (79) followed by Mumbai (C)(56), Thane (C) (16), Pune (C) (9) and Nagpur (C) (7). The percentage share of the above units is 94.89%.

22.1.3 Highest number of foreigners (87) have been arrested under the crime head of passport act, 1967, followed by other Crimes (26), NDPS Act (23) and cheating (15).The percentage share of the above heads is 85.80%.

22.2 Disposal of cases by Police & Court for crime committed by foreigners.

22.2.1 Table No. 108 shows the status of disposal (head-wise) of IPC and SLL cases by Police & Court for crime committed by foreigners during the year 2015.

22.2.2 During the year 2015, total number of cases pending for (including 43 cases of last year) investigation at the end of the year 2015 are 61. Under the head of Passport Act, 1967, (3) 4.92% cases have been pending for investigation from previous year and under the head of Cheating (12) and Arms Act, 1959 (11), 46.92% cases have been pending for investigation at the end of the year 2015 .

22.2.3 Total number of cases reported, cases for investigation and cases investigated during the year 2015 are 87, 130 and 69 respectively. From which, under the crime head of Passport Act, 1967, 24.14% cases have been reported, 20.77% cases are under investigation and 34.78% cases have been investigated during the year 2015.

22.2.4 During the Year 2015, the total number of victims in the registered cases are 59. Highest number of victims (13) have been under the head of Forgery followed by Cheating and Forigners Act, 1946 (12) each and other crimes (21). These together accounting for 77.97% to the total.

22.2.5 Total number of cases in which charge sheets have been submitted are 68 out of which, 24 charge sheets have been submitted under Passport Act which is 35.29%.

22.2.6 During the Year 2015, Total number of Cases pending for trial (including 360 cases from the previous year) were 428 and at the end of the year 2015 are 386, out of which, under the head of Passport Act 1967, 304 (71.03%) cases have been pending for trial from the previous year of which in 42 cases trial completed and 284 (73.58%) cases are pending for trial at the end of the year 2015.

२२.२.७ सन २०१५ मध्ये सुनावणी करिता पाठविण्यात आलेले गुन्हे, सुनावणीकरिता असणारे एकुण गुन्हे व सुनावणी पुर्ण झालेले गुन्हे यांची संख्या अनुक्रमे ६८, ४२८ व ४२ अशी आहे. त्यापैकी पासपोर्ट कायदा १९६७ या कायदयाप्रमाणे ८८.८९ % गुन्हे सुनावणीकरिता पाठविण्यात आले होते, ९३.४२% गुन्हे सुनावणीकरिता कोर्टात वर्षाअखेर प्रलंबित आहेत. व ६.५८ % गुन्हयांची सुनावणी कोर्टात पुर्ण झाली आहे.

22.2.7 Total number of cases sent for trial during the year 2015, Cases for trial during the year and cases in which trials have been completed are 68, 428 and 42 respectively. Under the head of Passport Act 1967, 88.89% cases have been sent for trial by police, 93.42% cases are pending for trial in court and 6.58% case trials have been completed by court.

२२.२.८ सन २०१५ मध्ये एकुण दोषसिध्दी झालेले व दोषमुक्त झालेल्या गुन्हयांची संख्या अनुक्रमे ३७ व ०५ अशी असून त्यापैकी पासपोर्ट कायदा १९६७ या गुन्हे शिर्षकाखाली ९५ % गुन्हयामध्ये दोषसिध्दी झाली असून ५% गुन्हयांमध्ये दोषमुक्ती झाली आहे.

22.2.8 Total number of Cases convicted and acquitted or discharged during 2015 are 37 and 05 respectively. Out of which under the head of Passport Act 1967, 95% cases are convicted and 5% cases are acquitted or discharged.

२२.३ भादवि व विशेष स्थानिक कायदयान्वये परदेशी व्यक्तीनी केलेल्या गुन्हयांमध्ये व्यक्तींची निर्गती

२२.३.१ सन २०१५ मध्ये राज्यातील पोलीस व न्यायालयाकडून भादवि व विशेष स्थानिक कायदयाखालील परदेशी व्यक्तींनी केलेल्या गुन्हयांमध्ये व्यक्तींच्या निर्गतीची आकडेवारी तक्ता क्र.१०९ मध्ये देण्यात आली आहे.

22.3 Disposal of foreigners for crime committed under IPC and SLL

22.3.1 The details of Disposal of Persons By Police and Court For Crime Commited By Foreigners (IPC &SLL) during 2015 is shown in Table No.109.

२२.३.२ सन २०१५ चे सुरुवातीस व शेवटी तपासादरम्यान कोठडीत असलेल्या किंवा जामीनावर असलेल्या व्यक्तींची संख्या अनुक्रमे १५४ व १३८ अशी आहे, त्यापैकी पासपोर्ट कायदा १९६७ , या गुन्हे शिर्षकाखाली वर्षाचे सुरूवातीस ७६.६२% व वर्षाचे शेवटी ६९.७९% व्यक्ती तपासादरम्यान कोठडीत किंवा जामीनावर होत्या .

22.3.2 Persons in custody or on bail during the stage of investigation at the begining of the year 2015 and at the end of the year 2015 are 154 and 138 respectively, out of which under the Crime head Passport Act 1967, at the begining of the year, 76.62% Persons and at the end of the year, 51.45% Persons are in the custody or on bail during the stage of investigation.

२२.३.३ सन २०१५ मध्ये एकुण अटक केलेल्या , तपासासाठी असलेल्या व दोषारोपपत्र पाठविलेल्या व्यक्तींची संख्या अनुक्रमे १७६,३३० व १९२ अशी आहे त्यापैकी पासपोर्ट कायदा १९६७, या गुन्हे शिषर्काखाली ४९.४३% व्यक्तींना अटक केली आहे. ६२.१२% व्यक्तींच्या गुन्हयाचा तपास चालु होता व ६९.७९% व्यक्तींवर दोषारोपत्र पाठविले आहे.

22.3.3 During 2015, total numbar of Persons arrested, Persons for investigation and Persons chargesheeted are 176, 330 and 192 respectively. Out of which, under the Crime head of Passport Act 1967, 49.43% Persons have been arrested, 62.12% Persons have been under investigation and 69.79 % Persons have been chargesheeted.

२२.३.४ सन २०१५ मध्ये एकुण तपासलेल्या किंवा अंतिम अहवाल सादर केलेल्या व्यक्तींची संख्या १९२ आहे त्यापैकी ६९.७९ % व्यक्ती हया पासपोर्ट कायदा १९६७ या गुन्हे शिर्षकाखालील आहेत.

22.3.4 Total number of Persons investigated or final report submmited during the year 2015 are 192. Out of which, 69.79 % are under the Crime head Passport Act, 1967.

२२.३.५ सन २०१५चे सुरूवातीस व शेवटी सुनावणीदरम्यान जामीनावर किंवा कोठडीत असलेल्या व्यक्तींची संख्या अनुक्रमे २४२३ व २५२२ अशी आहे त्यापैकी पासपोर्ट कायदा १९६७, या गुन्हे शिर्षकाखाली वर्षाचे सुरूवातीस ९४.३०% व वर्षाचे शेवटी ९३.०२% व्यक्ती सुनावणीदरम्यान जामीनावर किंवा कोठडीत होत्या.

22.3.5 Persons on bail or in custody during the stage of trial at the begining and the end of the year 2015 are 2423 and 2522 respectively. Out of which, under the head of Passport Act 1967, at the begining of the year 94.30% Persons and the end of the year 93.02 % Persons are on bail or in custody during the stage of trial .

२२.३.६ सन २०१५ दरम्यान एकुण सुनावणीकरिता असणा-या व सुनावणी पुर्ण झालेल्या व्यक्तींची संख्या अनुकमे २६१५ व ९३ अशी आहे त्यापैकी पासपोर्ट कायदा १९६७ या गुन्हे शिर्षकाखाली ९२.५०% व्यक्तीची सुनावणी चालु होती व ७८.४९% व्यक्तींची सुनावणी पुर्ण झाली आहे.

22.3.6 Total number of persons for trial and persons in which trials have been completed during the year 2015 are 2615 and 93 respectively, out of which, under the head of Passport Act 1967, 92.50% persons are for trial during the year and 78.49% persons trial have been completed.

२२.३.७ सन २०१५ मध्ये एकुण दोषसिध्दी व निर्दोष सुटलेल्या व्यक्तींची संख्या अनुक्रमे ६५ व २७ अशी आहे त्यापैकी पासपोर्ट कायदा १९६७, या गुन्हे शिर्षकाखाली ६९.८६ % व्यक्तींबाबत दोषसिध्दी झाली आहे व ३०.१३% व्यक्ती निर्दोष सुटल्या आहेत.

22.3.7 During 2015, total number of persons convicted and acquitted are 65 and 27 respectively. Out of which under the head of Passport Act 1967, 69.86% persons have been convicted and 30.13% persons have been acquitted.

तक्ता क्रमांक १०७

सन २०१५ मध्ये भादवि व विशेष व स्थानिक कायदयान्वये अटक झालेल्या परदेशी व्यक्तीची माहिती

Table 107

No. of Foreigners Arrested under Cognizable Crimes (IPC & SLL) During 2015

Sr. No.	UNIT	Murder (Section 302 IPC)	Rape (Section 376 IPC)	Unnatural Offences (Section 377 IPC)	Cheating (Section 420 IPC)	Forgery (Section 467, 468 and 471 IPC)	Narcotic Drugs & Psychotropic Substances Act, 1985	Passport Act, 1967	Registration of Foreigners Act, 1939	Foreigner Act, 1946	Arms Act, 1959	Explosives and Explosive Substances Act, 1884 & 1908	Copyright Act, 1957	IT Act, 2000	Unlawful Activities (Prevention) Act, 1967 (As amended)	Counterfeiting currency notes or Bank notes (Section 489A,489B,489 C & 489D IPC)	Foreigners arrested under other crimes	Total Foreigners arrested
1	2	3	4	5	6	7	8	9	10	11	12	13	14	15	16	17	18	19
1	Akola	0	0	0	0	0	0	0	0	0	0	0	0	0	0	0	0	0
2	Amravati Rural	0	0	0	0	0	0	0	0	0	0	0	0	0	0	0	0	0
3	Buldhana	0	0	0	0	0	0	0	0	0	0	0	0	0	0	0	0	0
4	Yavatmal	0	0	0	0	0	0	0	0	0	0	0	0	0	0	0	0	0
5	Washim	0	0	0	0	0	0	0	0	0	0	0	0	0	0	0	0	0
*	**Amravati Range**	**0**	**0**	**0**	**0**	**0**	**0**	**0**	**0**	**0**	**0**	**0**	**0**	**0**	**0**	**0**	**0**	**0**
6	Aurangabad Rural	0	0	0	0	0	0	0	0	0	0	0	0	0	0	0	0	0
7	Jalna	0	0	0	0	0	0	0	0	0	0	0	0	0	0	0	0	0
8	Beed	0	0	0	0	0	0	0	0	0	0	0	0	0	0	0	0	0
9	Osmanabad	0	0	0	0	0	0	0	0	0	0	0	0	0	0	0	0	0
*	**Aurangabad Range**	**0**	**0**	**0**	**0**	**0**	**0**	**0**	**0**	**0**	**0**	**0**	**0**	**0**	**0**	**0**	**0**	**0**
10	Nanded	0	0	0	0	0	0	0	0	0	0	0	0	0	0	0	0	0
11	Latur	0	0	0	0	0	0	0	0	0	0	0	0	0	0	0	0	0
12	Parbhani	0	0	0	0	0	0	0	0	0	0	0	0	0	0	0	0	0
13	Hingoli	0	0	0	0	0	0	0	0	0	0	0	0	0	0	0	0	0
*	**Nanded Range**	**0**	**0**	**0**	**0**	**0**	**0**	**0**	**0**	**0**	**0**	**0**	**0**	**0**	**0**	**0**	**0**	**0**
14	Kolhapur	0	0	0	0	0	0	0	0	0	0	0	0	0	0	0	0	0
15	Pune Rural	0	0	0	0	0	0	3	0	0	0	0	0	0	0	0	1	4
16	Sangli	0	0	0	0	0	0	0	0	0	0	0	0	0	0	0	1	1
17	Satara	0	0	0	0	0	0	0	0	0	0	0	0	0	0	0	0	0
18	Solapur Rural	0	0	0	0	0	0	0	0	0	0	0	0	0	0	0	0	0
*	**Kolhapur Range**	**0**	**0**	**0**	**0**	**0**	**0**	**3**	**0**	**0**	**0**	**0**	**0**	**0**	**0**	**0**	**2**	**5**
19	Bhandara	0	0	0	0	0	0	0	0	0	0	0	0	0	0	0	0	0
20	Chandrapur	0	0	0	0	0	0	0	0	0	0	0	0	0	0	0	0	0
21	Nagpur Rural	0	0	0	0	0	0	0	0	0	0	0	0	0	0	0	0	0
22	Wardha	0	0	0	0	0	0	0	0	0	0	0	0	0	0	0	0	0
*	**Nagpur Range**	**0**	**0**	**0**	**0**	**0**	**0**	**0**	**0**	**0**	**0**	**0**	**0**	**0**	**0**	**0**	**0**	**0**
23	Gadchiroli	0	0	0	0	0	0	0	0	0	0	0	0	0	0	0	0	0
24	Gondia	0	0	0	0	0	0	0	0	0	0	0	0	0	0	0	0	0
*	**Gadchiroli Range**	**0**	**0**	**0**	**0**	**0**	**0**	**0**	**0**	**0**	**0**	**0**	**0**	**0**	**0**	**0**	**0**	**0**
25	Ahmednagar	0	0	0	0	0	0	0	0	0	0	0	0	0	0	0	0	0
26	Dhule	0	0	0	0	0	0	0	0	0	0	0	0	0	0	0	0	0
27	Jalgaon	0	0	0	0	0	0	0	0	0	0	0	0	0	0	0	0	0
28	Nasik Rural	0	0	0	0	0	0	0	0	0	0	0	0	0	0	0	0	0
29	Nandurbar	0	0	0	0	0	0	0	0	0	0	0	0	0	0	0	0	0
*	**Nasik Range**	**0**	**0**	**0**	**0**	**0**	**0**	**0**	**0**	**0**	**0**	**0**	**0**	**0**	**0**	**0**	**0**	**0**
30	Raigad	0	0	0	0	0	0	0	0	0	0	0	0	0	0	0	0	0
31	Ratnagiri	0	0	0	0	0	0	0	0	0	0	0	0	0	0	0	0	0
32	Sindhudurg	0	0	0	0	0	0	0	0	0	0	0	0	0	0	0	0	0
33	Thane Rural	0	0	0	0	0	0	0	0	0	0	0	0	0	0	0	0	0
34	Palghar	0	0	0	0	0	0	0	0	0	0	0	0	0	0	0	0	0
*	**Thane Range**	**0**	**0**	**0**	**0**	**0**	**0**	**0**	**0**	**0**	**0**	**0**	**0**	**0**	**0**	**0**	**0**	**0**
35	Mumbai Railway	0	0	0	0	0	4	0	0	0	0	0	0	0	0	0	0	4
36	Pune Railway	0	0	0	0	0	0	0	0	0	0	0	0	0	0	0	0	0
37	Nagpur Railway	0	0	0	0	0	0	0	0	0	0	0	0	0	0	0	0	0
*	**Railway Range**	**0**	**0**	**0**	**0**	**0**	**4**	**0**	**0**	**0**	**0**	**0**	**0**	**0**	**0**	**0**	**0**	**4**
38	Nagpur Commr.	0	0	0	0	1	0	6	0	0	0	0	0	0	0	0	0	7
39	Pune Commr.	0	0	3	0	0	3	1	0	0	0	0	0	0	0	0	2	9
40	Thane Commr.	0	0	0	0	0	0	11	0	0	0	0	0	0	0	0	5	16
41	Mumbai Commr.	0	0	0	14	7	5	6	0	6	8	0	0	0	0	0	10	56
42	Nasik Commr.	0	0	0	0	0	0	0	0	0	0	0	0	0	0	0	0	0
43	Aurangabad Commr.	0	0	0	0	0	0	0	0	0	0	0	0	0	0	0	0	0
44	Solapur Commr.	0	0	0	0	0	0	0	0	0	0	0	0	0	0	0	0	0
45	Navi Mumbai	0	0	0	1	0	11	60	0	0	0	0	0	0	0	0	7	79
46	Amravati Commr.	0	0	0	0	0	0	0	0	0	0	0	0	0	0	0	0	0
*	**Total Commrs.**	**0**	**0**	**3**	**15**	**8**	**19**	**84**	**0**	**6**	**8**	**0**	**0**	**0**	**0**	**0**	**24**	**167**
*	**Total of M.S**	**0**	**0**	**3**	**15**	**8**	**23**	**87**	**0**	**6**	**8**	**0**	**0**	**0**	**0**	**0**	**26**	**176**

तक्ता क्रमांक १०८

सन २०१५ मध्ये राज्यातील पोलीस न्यायालया कडून भांदवि व विशेष व स्थानिक कायदयातील शिर्षकापुसार परेदेशी व्यक्ती विरुध्द दाखल गुन्यांची केलेली निर्गती

Table 108

Disposal of Cases by Police & Court for Crime Committed by Foreigners (IPC and SLL) During 2015

Sr. No.	Crime Head	Cases pending investigation from previous year	Cases reported during the year	Total Cases for investigation during the year	No. of victims in the registered cases	Cases in which chargesheets were submitted	Cases in which chargesheets were not laid but final report as True or otherwise Final Report submitted during the year	Total cases investigated during the year	Cases pending investigation at the end of the year
1	2	3	4	5	6	7	8	9	10
1	Murder	0	0	0	0	0	0	0	0
2	Rape	0	0	0	0	0	0	0	0
3	Unnatural Offences	0	1	1	1	1	0	1	0
4	Cheating	8	9	17	12	5	0	5	12
5	Forgery	8	6	14	13	7	0	7	7
6	Narcotic Drugs & Psychotropic Substances Act, 1985	3	12	15	0	9	0	9	6
7	Passport Act, 1967	6	21	27	0	24	0	24	3
8	Registration of Foreigners Act, 1939	1	0	1	0	0	0	0	1
9	Foreigners Act, 1946	0	12	12	12	11	0	11	1
10	Arms Act, 1959	3	8	11	0	0	0	0	11
11	Explosives and Explosive Substances Act	0	0	0	0	0	0	0	0
12	Copyright Act, 1957	0	0	0	0	0	0	0	0
13	Information Technology Act, 2000	1	0	1	0	0	0	0	1
14	Unlawful Activities (Prevention) Act, 1967	0	0	0	0	0	0	0	0
15	Counterfeiting currency notes or Bank notes	0	0	0	0	0	0	0	0
16	Other Crimes	13	18	31	21	11	1	12	19
	Total Crimes committed by Foreign Accused	**43**	**87**	**130**	**59**	**68**	**1**	**69**	**61**

Continued ...

Sr. No.	Crime Head	Cases pending trial from the previous year	Cases sent for trial during the year	Total number of cases for trials	Cases convicted	Cases acquitted or discharged	Cases in which trials were completed	Cases pending trial at the end of the year
1	2	11	12	13	14	15	16	17
1	Murder	1	0	1	0	0	0	1
2	Rape	1	0	1	0	0	0	1
3	Unnatural Offences	0	1	1	0	1	1	0
4	Cheating	11	5	16	0	0	0	16
5	Forgery	16	7	23	1	0	1	22
6	Narcotic Drugs & Psychotropic Substances Act, 1985	3	9	12	0	1	1	11
7	Passport Act, 1967	280	24	304	19	1	20	284
8	Registration of Foreigners Act, 1939	6	0	6	0	0	0	6
9	Foreigners Act, 1946	11	11	22	11	1	12	10
10	Arms Act, 1959	1	0	1	0	0	0	1
11	Explosives and Explosive Substances Act	1	0	1	0	0	0	1
12	Copyright Act, 1957	0	0	0	0	0	0	0
13	Information Technology Act, 2000	2	0	2	0	0	0	2
14	Unlawful Activities (Prevention) Act, 1967	0	0	0	0	0	0	0
15	Counterfeiting currency notes or Bank notes	0	0	0	0	0	0	0
16	Other Crimes	27	11	38	6	1	7	31
	Total Crimes committed by Foreign Accused	**360**	**68**	**428**	**37**	**5**	**42**	**386**

तक्ता क्र. १०९

सन २०१५ मध्ये राज्यातील पोलीस व न्यायालयाकडून भादवि व विशेष व स्थानिक कायदयान्वये परदेशी व्यक्तीनी कोलेल्या गुन्हयांची निर्गतीची माहिती

Table 109

Disposal of Persons by Police & Court for Crime Committed by Foreigners (IPC and SLL) During 2015

Sr. No.	Crime Head	Persons in custody or on bail during the stage of investigation at the beginning of the year	Persons arrested during the year	Total number of persons for investigation	Persons Chargesheeted	Persons disposed of otherwise	Total number of persons investigated during the year True or otherwise Final Report submitted during the year	Persons in custody or on bail during the stage of investigation at the end of the year
1	2	3	4	5	6	7	8	9
1	Murder	1	0	1	0	0	0	1
2	Rape	0	0	0	0	0	0	0
3	Unnatural Offences	0	3	3	3	0	3	0
4	Cheating	1	15	16	3	0	3	13
5	Forgery	6	8	14	8	0	8	6
6	Narcotic Drugs & Psychotropic Substances Act, 1985	3	23	26	20	0	20	6
7	Passport Act, 1967	118	87	205	134	0	134	71
8	Registration of Foreigners Act, 1939	0	0	0	0	0	0	0
9	Foreigners Act, 1946	0	6	6	6	0	6	0
10	Arms Act, 1959	1	8	9	0	0	0	9
11	Explosives and Explosive Substances Act	0	0	0	0	0	0	0
12	Copyright Act, 1957	0	0	0	0	0	0	0
13	Information Technology Act, 2000	1	0	1	0	0	0	1
14	Unlawful Activities (Prevention) Act, 1967	0	0	0	0	0	0	0
15	Counterfeiting currency notes or Bank notes	0	0	0	0	0	0	0
16	Other Crimes	23	26	49	18	0	18	31
	Total Crimes committed by Foreign Accused	**154**	**176**	**330**	**192**	**0**	**192**	**138**

Continued ….

Sr. No.	Crime Head	Persons on bail or in custody during the stage of trial at the beginning of the year	Total number of persons for trial during the year	Persons convicted	Persons acquitted	Persons Discharged or disposed off otherwise by Court	Total number of persons in which trials were completed	Persons on bail or in custody during the stage of trial at the end of the year
1	2	10	11	12	13	14	15	16
1	Murder	1	1	0	0	0	0	1
2	Rape	1	1	0	0	0	0	1
3	Unnatural Offences	0	3	0	3	0	3	0
4	Cheating	13	16	0	0	0	0	16
5	Forgery	17	25	1	0	0	1	24
6	Narcotic Drugs & Psychotropic Substances Act, 1985	3	23	0	0	1	1	22
7	Passport Act, 1967	2285	2419	51	22	0	73	2346
8	Registration of Foreigners Act, 1939	42	42	0	0	0	0	42
9	Foreigners Act, 1946	25	31	5	1	0	6	25
10	Arms Act, 1959	0	0	0	0	0	0	0
11	Explosives and Explosive Substances Act	0	0	0	0	0	0	0
12	Copyright Act, 1957	0	0	0	0	0	0	0
13	Information Technology Act, 2000	2	2	0	0	0	0	2
14	Unlawful Activities (Prevention) Act, 1967	0	0	0	0	0	0	0
15	Counterfeiting currency notes or Bank notes	0	0	0	0	0	0	0
16	Other Crimes	34	52	8	1	0	9	43
	Total Crimes committed by Foreign Accused	**2423**	**2615**	**65**	**27**	**1**	**93**	**2522**

प्रकरण - २३

सन २०१५ मध्ये परदेशी नागरीकांविरूध्द दाखल झालेल्या गुन्हयांच्या घटना

२३.१.१ सन २०१५ मध्ये परदेशी नागरिकांविरूध्द दाखल झालेले गुन्हे तक्ता क्र. ११० मध्ये दर्शविले आहे. एकुण ५३ गुन्ह्यांच्या घटनांपैकी ३६ गुन्हे हे परदेशी पर्यटक यांचेविरूध्द दाखल असून हे प्रमाण ६७.९२ % आहे. तर १७ गुन्हे हे परदेशी पर्यटकाव्यतिरीक्त इतर परदेशी नागरीकाविरूध्द दाखल असून हे प्रमाणे (३२.०७ %) इतके आहे.

२३.१.२ परदेशी पर्यटकांविरूध्द दाखल ३६ गुन्हयांपैकी मुंबई शहर येथे सर्वाधिक ३२ केसेस दाखल आहेत. त्यापाठोपाठ पुणे रेल्वे (०२) औरंगाबाद ग्रामीण (०१) व नाशिक शहर (०१) असे गुन्हे दाखल आहेत.

२३.१.३ परदेशी पर्यटका व्यतिरिक्त इतर परदेशी नागरिकांविरूध्दच्या (१७) गुन्हयांपैकी मुंबई रेल्वे येथे सर्वाधिक (११) गुन्हे दाखल आहेत. त्यापाठोपाठ पुणे शहर (५) व मुंबई शहर येथे (१) गुन्हा दाखल आहे.

२३.२.१ तक्ता क्र.१११ मध्ये परदेशी नागरीकांविरूध्द सन २०१५ मधील भादवि प्रमाणे दाखल गुन्हे दर्शविले आहेत.

२३.२.२ परदेशी पर्यटकावरील शिर्षनिहाय ३६ गुन्हयांपैकी चोरी (२०), बनावटीकरण (१३), जबरी चोरी (०१) आणि इतर भादवि गुन्हे (०२) असे गुन्हे दाखल आहेत.

२३.२.३ परदेशी पर्यटकांव्यतिरीक्त इतर परदेशी नागरिकांवर दाखल १७ गुन्हयांपैकी चोरी (१२), स्त्रियांना लज्जा उत्पन्न होईल असे वर्तन करणे (०१) व इतर भादवि गुन्हे (०४) या शिर्षकाखाली सन २०१५ मध्ये गुन्हे दाखल झाले आहेत.

CHAPTER - 23

Incidences of crime committed against foreigners During 2015

23.1.1 Incidences of offences registered against foreigners for the year of 2015 is shown in table no 110. Total 53 such incidences have been reported during year 2015, out of which 36 incidences (67.92 %) have been registered against tourist foreigners and 17 incidences (32.07%) have been registered against other than tourist foreigners.

23.1.2 Cases against tourist foreigners :- Out of 36 cases maximum cases have been reported in Mumbai Commr. (32) followed by Pune Railway (02), Aurangabad Rural (01) and Nasik Commr. (01).

23.1.3 Offences registered against Other than tourist foreigners : - Out of (17) cases maximum cases have been reported in Mumbai Railway (11) followed by Pune Commr. (05) and Mumbai Commr. (01).

23.2.1. IPC Crime against foreigners for the year of 2015 is shown in Table No-111

23.2.2 Headwise, 36 cases have been registered aganist tourist foreigners i.e. theft (20), Forgery (13), Robbery (1) and other IPC (02).

23.2.3 Incidences of Crime committed by other than tourist foreigners are 17, out of them, Theft (12), Assault on women with intent to outrage her modesty (01) and other IPC crimes (04) have been registered during the year 2015.

तक्ता क्र. ११०

सन २०१५ मध्ये परदेशी व्यक्तीविरुध्द नोंद झालेल्या गुन्हयांची माहिती, घटक निहाय

Table - 110

Incidence of Crime Committed Against Foreigners During 2015

Sr. No.	UNIT	Incidence of crimes against Foreigners		
		Tourist Foreigners	Other than Tourist Foreigners	Total
1	2	3	4	5
1	Akola	0	0	0
2	Amravati Rural	0	0	0
3	Buldhana	0	0	0
4	Yavatmal	0	0	0
5	Washim	0	0	0
	Amravati Range	**0**	**0**	**0**
6	Aurangabad Rural	1	0	1
7	Jalna	0	0	0
8	Beed	0	0	0
9	Osmanabad	0	0	0
*	**Aurangabad Range**	**1**	**0**	**1**
10	Nanded	0	0	0
11	Latur	0	0	0
12	Parbhani	0	0	0
13	Hingoli	0	0	0
*	**Nanded Range**	**0**	**0**	**0**
14	Kolhapur	0	0	0
15	Pune Rural	0	0	0
16	Sangli	0	0	0
17	Satara	0	0	0
18	Solapur Rural	0	0	0
*	**Kolhapur Range**	**0**	**0**	**0**
19	Bhandara	0	0	0
20	Chandrapur	0	0	0
21	Nagpur Rural	0	0	0
22	Wardha	0	0	0
*	**Nagpur Range**	**0**	**0**	**0**
23	Gadchiroli	0	0	0
24	Gondia	0	0	0
*	**Gadchiroli Range**	**0**	**0**	**0**
25	Ahmednagar	0	0	0
26	Dhule	0	0	0
27	Jalgaon	0	0	0
28	Nasik Rural	0	0	0
29	Nandurbar	0	0	0
*	**Nasik Range**	**0**	**0**	**0**
30	Raigad	0	0	0
31	Ratnagiri	0	0	0
32	Sindhudurg	0	0	0
33	Thane Rural	0	0	0
34	Palghar	0	0	0
*	**Thane Range**	**0**	**0**	**0**
35	Mumbai Railway	0	11	11
36	Pune Railway	2	0	2
37	Nagpur Railway	0	0	0
*	**Railway Range**	**2**	**11**	**13**
38	Nagpur Commr.	0	0	0
39	Pune Commr.	0	5	5
40	Thane Commr.	0	0	0
41	Mumbai Commr.	32	1	33
42	Nasik Commr.	1	0	1
43	Aurangabad Commr.	0	0	0
44	Solapur Commr.	0	0	0
45	Navi Mumbai	0	0	0
46	Amravati Commr.	0	0	0
*	**Total Commrs.**	**33**	**6**	**39**
*	**Total of M.S**	**36**	**17**	**53**

तक्ता क्र. १११

सन २०१५ मध्ये परदेशी व्यक्तीविरुध्द नोंद झालेल्या दखलपात्रगुन्हयांची माहिती, घटक निहाय

Table 111

Incidence of Cognizable Crimes (IPC) under Different Crime Heads During 2015

Sr. No.	UNIT	Foreigners Tourists							
		Murder (Sec. 302 IPC)	Attempt To Commit Murder (Sec. 307 IPC)	C.H. Not Amounting To Murder (Sec. 304 IPC)	Attempt to commit C.H. Not Amounting To Murder (Sec. 308 IPC)	Rape	Attempt To Commit Rape (Section 376/511 IPC)	Assault on women with intent to outrage her Modesty (Section 354 IPC)	Insult to the Modesty of women (Section 509 IPC)
1	2	3	4	5	6	7	8	9	10
1	Akola	0	0	0	0	0	0	0	0
2	Amravati Rural	0	0	0	0	0	0	0	0
3	Buldhana	0	0	0	0	0	0	0	0
4	Yavatmal	0	0	0	0	0	0	0	0
5	Washim	0	0	0	0	0	0	0	0
*	**Amravati Range**	**0**	**0**	**0**	**0**	**0**	**0**	**0**	**0**
6	Aurangabad Rural	0	0	0	0	0	0	0	0
7	Jalna	0	0	0	0	0	0	0	0
8	Beed	0	0	0	0	0	0	0	0
9	Osmanabad	0	0	0	0	0	0	0	0
*	**Aurangabad Range**	**0**	**0**	**0**	**0**	**0**	**0**	**0**	**0**
10	Nanded	0	0	0	0	0	0	0	0
11	Latur	0	0	0	0	0	0	0	0
12	Parbhani	0	0	0	0	0	0	0	0
13	Hingoli	0	0	0	0	0	0	0	0
*	**Nanded Range**	**0**	**0**	**0**	**0**	**0**	**0**	**0**	**0**
14	Kolhapur	0	0	0	0	0	0	0	0
15	Pune Rural	0	0	0	0	0	0	0	0
16	Sangli	0	0	0	0	0	0	0	0
17	Satara	0	0	0	0	0	0	0	0
18	Solapur Rural	0	0	0	0	0	0	0	0
*	**Kolhapur Range**	**0**	**0**	**0**	**0**	**0**	**0**	**0**	**0**
19	Bhandara	0	0	0	0	0	0	0	0
20	Chandrapur	0	0	0	0	0	0	0	0
21	Nagpur Rural	0	0	0	0	0	0	0	0
22	Wardha	0	0	0	0	0	0	0	0
*	**Nagpur Range**	**0**	**0**	**0**	**0**	**0**	**0**	**0**	**0**
23	Gadchiroli	0	0	0	0	0	0	0	0
24	Gondia	0	0	0	0	0	0	0	0
*	**Gadchiroli Range**	**0**	**0**	**0**	**0**	**0**	**0**	**0**	**0**
25	Ahmednagar	0	0	0	0	0	0	0	0
26	Dhule	0	0	0	0	0	0	0	0
27	Jalgaon	0	0	0	0	0	0	0	0
28	Nasik Rural	0	0	0	0	0	0	0	0
29	Nandurbar	0	0	0	0	0	0	0	0
*	**Nasik Range**	**0**	**0**	**0**	**0**	**0**	**0**	**0**	**0**
30	Raigad	0	0	0	0	0	0	0	0
31	Ratnagiri	0	0	0	0	0	0	0	0
32	Sindhudurg	0	0	0	0	0	0	0	0
33	Thane Rural	0	0	0	0	0	0	0	0
34	Palghar	0	0	0	0	0	0	0	0
*	**Thane Range**	**0**	**0**	**0**	**0**	**0**	**0**	**0**	**0**
35	Mumbai Railway	0	0	0	0	0	0	0	0
36	Pune Railway	0	0	0	0	0	0	0	0
37	Nagpur Railway	0	0	0	0	0	0	0	0
*	**Railway Range**	**0**	**0**	**0**	**0**	**0**	**0**	**0**	**0**
38	Nagpur Commr.	0	0	0	0	0	0	0	0
39	Pune Commr.	0	0	0	0	0	0	0	0
40	Thane Commr.	0	0	0	0	0	0	0	0
41	Mumbai Commr.	0	0	0	0	0	0	0	0
42	Nasik Commr.	0	0	0	0	0	0	0	0
43	Aurangabad Commr.	0	0	0	0	0	0	0	0
44	Solapur Commr.	0	0	0	0	0	0	0	0
45	Navi Mumbai	0	0	0	0	0	0	0	0
46	Amravati Commr.	0	0	0	0	0	0	0	0
*	**Total Commrs.**	**0**	**0**	**0**	**0**	**0**	**0**	**0**	**0**
*	**Total of M.S**	**0**	**0**	**0**	**0**	**0**	**0**	**0**	**0**

तक्ता क्र. १११

Table 111 (Continued)

Sr. No.	UNIT	Foreigners Tourists								
		Kidnapping & Abduction (Section 363,364,364A, 366, 367, 368 & 369 IPC)	Dacoity (Section 395,396, 397 & 398 IPC)	Robbery (Section 392 to 394, 397 & 398 IPC)	Grievous Hurt (325,326,326A & 326 B IPC)	Extortion (Section 384 & 385 - 389 IPC)	Cheating (Section 420 IPC)	Theft (Section 379 to 380, 381 & 382 IPC)	Forgery (Section 465, 468 & 471 IPC)	Importation of Girls from Foreign Country
1	2	11	12	13	14	15	16	17	18	19
1	Akola	0	0	0	0	0	0	0	0	0
2	Amravati Rural	0	0	0	0	0	0	0	0	0
3	Buldhana	0	0	0	0	0	0	0	0	0
4	Yavatmal	0	0	0	0	0	0	0	0	0
5	Washim	0	0	0	0	0	0	0	0	0
*	**Amravati Range**	**0**	**0**	**0**	**0**	**0**	**0**	**0**	**0**	**0**
6	Aurangabad Rural	0	0	0	0	0	0	1	0	0
7	Jalna	0	0	0	0	0	0	0	0	0
8	Beed	0	0	0	0	0	0	0	0	0
9	Osmanabad	0	0	0	0	0	0	0	0	0
*	**Aurangabad Range**	**0**	**0**	**0**	**0**	**0**	**0**	**1**	**0**	**0**
10	Nanded	0	0	0	0	0	0	0	0	0
11	Latur	0	0	0	0	0	0	0	0	0
12	Parbhani	0	0	0	0	0	0	0	0	0
13	Hingoli	0	0	0	0	0	0	0	0	0
*	**Nanded Range**	**0**	**0**	**0**	**0**	**0**	**0**	**0**	**0**	**0**
14	Kolhapur	0	0	0	0	0	0	0	0	0
15	Pune Rural	0	0	0	0	0	0	0	0	0
16	Sangli	0	0	0	0	0	0	0	0	0
17	Satara	0	0	0	0	0	0	0	0	0
18	Solapur Rural	0	0	0	0	0	0	0	0	0
*	**Kolhapur Range**	**0**	**0**	**0**	**0**	**0**	**0**	**0**	**0**	**0**
19	Bhandara	0	0	0	0	0	0	0	0	0
20	Chandrapur	0	0	0	0	0	0	0	0	0
21	Nagpur Rural	0	0	0	0	0	0	0	0	0
22	Wardha	0	0	0	0	0	0	0	0	0
*	**Nagpur Range**	**0**	**0**	**0**	**0**	**0**	**0**	**0**	**0**	**0**
23	Gadchiroli	0	0	0	0	0	0	0	0	0
24	Gondia	0	0	0	0	0	0	0	0	0
*	**Gadchiroli Range**	**0**	**0**	**0**	**0**	**0**	**0**	**0**	**0**	**0**
25	Ahmednagar	0	0	0	0	0	0	0	0	0
26	Dhule	0	0	0	0	0	0	0	0	0
27	Jalgaon	0	0	0	0	0	0	0	0	0
28	Nasik Rural	0	0	0	0	0	0	0	0	0
29	Nandurbar	0	0	0	0	0	0	0	0	0
*	**Nasik Range**	**0**	**0**	**0**	**0**	**0**	**0**	**0**	**0**	**0**
30	Raigad	0	0	0	0	0	0	0	0	0
31	Ratnagiri	0	0	0	0	0	0	0	0	0
32	Sindhudurg	0	0	0	0	0	0	0	0	0
33	Thane Rural	0	0	0	0	0	0	0	0	0
34	Palghar	0	0	0	0	0	0	0	0	0
*	**Thane Range**	**0**	**0**	**0**	**0**	**0**	**0**	**0**	**0**	**0**
35	Mumbai Railway	0	0	0	0	0	0	0	0	0
36	Pune Railway	0	0	0	0	0	0	2	0	0
37	Nagpur Railway	0	0	0	0	0	0	0	0	0
*	**Railway Range**	**0**	**0**	**0**	**0**	**0**	**0**	**2**	**0**	**0**
38	Nagpur Commr.	0	0	0	0	0	0	0	0	0
39	Pune Commr.	0	0	0	0	0	0	0	0	0
40	Thane Commr.	0	0	0	0	0	0	0	0	0
41	Mumbai Commr.	0	0	1	0	0	0	16	13	0
42	Nasik Commr.	0	0	0	0	0	0	0	0	0
43	Aurangabad Commr.	0	0	0	0	0	0	1	0	0
44	Solapur Commr.	0	0	0	0	0	0	0	0	0
45	Navi Mumbai	0	0	0	0	0	0	0	0	0
46	Amravati Commr.	0	0	0	0	0	0	0	0	0
*	**Total Commrs.**	**0**	**0**	**1**	**0**	**0**	**0**	**17**	**13**	**0**
*	**Total of M.S**	**0**	**0**	**1**	**0**	**0**	**0**	**20**	**13**	**0**

तक्ता क्र. १११ (चालू)

Table 111 (Continued)

Sr. No.	UNIT	Foreigners Tourists						
		Disclosure of Identity of Victims (Section 228 A IPC)	Human Trafficking (U/S 370 & 370A IPC)	Other IPC	Immoral Traffic (Prevention) Act, 1956	Indecent Representation of Women (Prohibition) Act, 1986	Other SLL	Sub Total (Tourist Foreigners)
1	2	20	21	22	23	24	25	26
1	Akola	0	0	0	0	0	0	0
2	Amravati Rural	0	0	0	0	0	0	0
3	Buldhana	0	0	0	0	0	0	0
4	Yavatmal	0	0	0	0	0	0	0
5	Washim	0	0	0	0	0	0	0
*	**Amravati Range**	**0**	**0**	**0**	**0**	**0**	**0**	**0**
6	Aurangabad Rural	0	0	0	0	0	0	1
7	Jalna	0	0	0	0	0	0	0
8	Beed	0	0	0	0	0	0	0
9	Osmanabad	0	0	0	0	0	0	0
*	**Aurangabad Range**	**0**	**0**	**0**	**0**	**0**	**0**	**1**
10	Nanded	0	0	0	0	0	0	0
11	Latur	0	0	0	0	0	0	0
12	Parbhani	0	0	0	0	0	0	0
13	Hingoli	0	0	0	0	0	0	0
*	**Nanded Range**	**0**	**0**	**0**	**0**	**0**	**0**	**0**
14	Kolhapur	0	0	0	0	0	0	0
15	Pune Rural	0	0	0	0	0	0	0
16	Sangli	0	0	0	0	0	0	0
17	Satara	0	0	0	0	0	0	0
18	Solapur Rural	0	0	0	0	0	0	0
*	**Kolhapur Range**	**0**	**0**	**0**	**0**	**0**	**0**	**0**
19	Bhandara	0	0	0	0	0	0	0
20	Chandrapur	0	0	0	0	0	0	0
21	Nagpur Rural	0	0	0	0	0	0	0
22	Wardha	0	0	0	0	0	0	0
*	**Nagpur Range**	**0**	**0**	**0**	**0**	**0**	**0**	**0**
23	Gadchiroli	0	0	0	0	0	0	0
24	Gondia	0	0	0	0	0	0	0
*	**Gadchiroli Range**	**0**	**0**	**0**	**0**	**0**	**0**	**0**
25	Ahmednagar	0	0	0	0	0	0	0
26	Dhule	0	0	0	0	0	0	0
27	Jalgaon	0	0	0	0	0	0	0
28	Nasik Rural	0	0	0	0	0	0	0
29	Nandurbar	0	0	0	0	0	0	0
*	**Nasik Range**	**0**	**0**	**0**	**0**	**0**	**0**	**0**
30	Raigad	0	0	0	0	0	0	0
31	Ratnagiri	0	0	0	0	0	0	0
32	Sindhudurg	0	0	0	0	0	0	0
33	Thane Rural	0	0	0	0	0	0	0
34	Palghar	0	0	0	0	0	0	0
*	**Thane Range**	**0**	**0**	**0**	**0**	**0**	**0**	**0**
35	Mumbai Railway	0	0	0	0	0	0	0
36	Pune Railway	0	0	0	0	0	0	2
37	Nagpur Railway	0	0	0	0	0	0	0
*	**Railway Range**	**0**	**0**	**0**	**0**	**0**	**0**	**2**
38	Nagpur Commr.	0	0	0	0	0	0	0
39	Pune Commr.	0	0	0	0	0	0	0
40	Thane Commr.	0	0	0	0	0	0	0
41	Mumbai Commr.	0	0	2	0	0	0	32
42	Nasik Commr.	0	0	0	0	0	0	0
43	Aurangabad Commr.	0	0	0	0	0	0	1
44	Solapur Commr.	0	0	0	0	0	0	0
45	Navi Mumbai	0	0	0	0	0	0	0
46	Amravati Commr.	0	0	0	0	0	0	0
*	**Total Commrs.**	**0**	**0**	**2**	**0**	**0**	**0**	**33**
*	**Total of M.S**	**0**	**0**	**2**	**0**	**0**	**0**	**36**

तक्ता क्र. १११ (चालू)

Table 111 (Continued)

Sr. No.	Unit	Other then Foreigners Tourists							
		Murder(Sec. 302 IPC)	Attempt To Commit Murder (Sec. 307 IPC)	C.H. Not Amounting To Murder (Sec. 304 IPC)	Attempt to commit C.H. Not Amounting To Murder (Sec. 308 IPC)	Rape	Attempt To Commit Rape (Section 376/511 IPC)	Assault on women with intent to outrage her Modesty (Section 354 IPC)	Insult to the Modesty of women (Section 509 IPC)
1	2	27	28	29	30	31	32	33	34
1	Akola	0	0	0	0	0	0	0	0
2	Amravati Rural	0	0	0	0	0	0	0	0
3	Buldhana	0	0	0	0	0	0	0	0
4	Yavatmal	0	0	0	0	0	0	0	0
5	Washim	0	0	0	0	0	0	0	0
*	**Amravati Range**	**0**	**0**	**0**	**0**	**0**	**0**	**0**	**0**
6	Aurangabad Rural	0	0	0	0	0	0	0	0
7	Jalna	0	0	0	0	0	0	0	0
8	Beed	0	0	0	0	0	0	0	0
9	Osmanabad	0	0	0	0	0	0	0	0
*	**Aurangabad Range**	**0**	**0**	**0**	**0**	**0**	**0**	**0**	**0**
10	Nanded	0	0	0	0	0	0	0	0
11	Latur	0	0	0	0	0	0	0	0
12	Parbhani	0	0	0	0	0	0	0	0
13	Hingoli	0	0	0	0	0	0	0	0
*	**Nanded Range**	**0**	**0**	**0**	**0**	**0**	**0**	**0**	**0**
14	Kolhapur	0	0	0	0	0	0	0	0
15	Pune Rural	0	0	0	0	0	0	0	0
16	Sangli	0	0	0	0	0	0	0	0
17	Satara	0	0	0	0	0	0	0	0
18	Solapur Rural	0	0	0	0	0	0	0	0
*	**Kolhapur Range**	**0**	**0**	**0**	**0**	**0**	**0**	**0**	**0**
19	Bhandara	0	0	0	0	0	0	0	0
20	Chandrapur	0	0	0	0	0	0	0	0
21	Nagpur Rural	0	0	0	0	0	0	0	0
22	Wardha	0	0	0	0	0	0	0	0
*	**Nagpur Range**	**0**	**0**	**0**	**0**	**0**	**0**	**0**	**0**
23	Gadchiroli	0	0	0	0	0	0	0	0
24	Gondia	0	0	0	0	0	0	0	0
*	**Gadchiroli Range**	**0**	**0**	**0**	**0**	**0**	**0**	**0**	**0**
25	Ahmednagar	0	0	0	0	0	0	0	0
26	Dhule	0	0	0	0	0	0	0	0
27	Jalgaon	0	0	0	0	0	0	0	0
28	Nasik Rural	0	0	0	0	0	0	0	0
29	Nandurbar	0	0	0	0	0	0	0	0
*	**Nasik Range**	**0**	**0**	**0**	**0**	**0**	**0**	**0**	**0**
30	Raigad	0	0	0	0	0	0	0	0
31	Ratnagiri	0	0	0	0	0	0	0	0
32	Sindhudurg	0	0	0	0	0	0	0	0
33	Thane Rural	0	0	0	0	0	0	0	0
34	Palghar	0	0	0	0	0	0	0	0
*	**Thane Range**	**0**	**0**	**0**	**0**	**0**	**0**	**0**	**0**
35	Mumbai Railway	0	0	0	0	0	0	1	0
36	Pune Railway	0	0	0	0	0	0	0	0
37	Nagpur Railway	0	0	0	0	0	0	0	0
*	**Railway Range**	**0**	**0**	**0**	**0**	**0**	**0**	**1**	**0**
38	Nagpur Commr.	0	0	0	0	0	0	0	0
39	Pune Commr.	0	0	0	0	0	0	0	0
40	Thane Commr.	0	0	0	0	0	0	0	0
41	Mumbai Commr.	0	0	0	0	0	0	0	0
42	Nasik Commr.	0	0	0	0	0	0	0	0
43	Aurangabad Commr.	0	0	0	0	0	0	0	0
44	Solapur Commr.	0	0	0	0	0	0	0	0
45	Navi Mumbai	0	0	0	0	0	0	0	0
46	Amravati Commr.	0	0	0	0	0	0	0	0
*	**Total Commrs.**	**0**	**0**	**0**	**0**	**0**	**0**	**0**	**0**
*	**Total of M.S**	**0**	**0**	**0**	**0**	**0**	**0**	**1**	**0**

तक्ता क्र. १११ (चालू)

Table 111 (Continued)

Sr. No.	Unit	Other then Foreigners Tourists						
		Kidnapping & Abduction (Section 363,364,364A, 366, 367, 368 & 369 IPC)	Dacoity (Section 395,396, 397 & 398 IPC)	Robbery (Section 392 to 394, 397 & 398 IPC)	Grievous Hurt (325,326,326A & 326 B IPC)	Extortion (Section 384 & 385 - 389 IPC)	Cheating (Section 420 IPC)	Theft (Section 379 to 380, 381 & 382 IPC)
1	2	35	36	37	38	39	40	41
1	Akola	0	0	0	0	0	0	0
2	Amravati Rural	0	0	0	0	0	0	0
3	Buldhana	0	0	0	0	0	0	0
4	Yavatmal	0	0	0	0	0	0	0
5	Washim	0	0	0	0	0	0	0
*	**Amravati Range**	**0**	**0**	**0**	**0**	**0**	**0**	**0**
6	Aurangabad Rural	0	0	0	0	0	0	0
7	Jalna	0	0	0	0	0	0	0
8	Beed	0	0	0	0	0	0	0
9	Osmanabad	0	0	0	0	0	0	0
*	**Aurangabad Range**	**0**	**0**	**0**	**0**	**0**	**0**	**0**
10	Nanded	0	0	0	0	0	0	0
11	Latur	0	0	0	0	0	0	0
12	Parbhani	0	0	0	0	0	0	0
13	Hingoli	0	0	0	0	0	0	0
*	**Nanded Range**	**0**	**0**	**0**	**0**	**0**	**0**	**0**
14	Kolhapur	0	0	0	0	0	0	0
15	Pune Rural	0	0	0	0	0	0	0
16	Sangli	0	0	0	0	0	0	0
17	Satara	0	0	0	0	0	0	0
18	Solapur Rural	0	0	0	0	0	0	0
*	**Kolhapur Range**	**0**	**0**	**0**	**0**	**0**	**0**	**0**
19	Bhandara	0	0	0	0	0	0	0
20	Chandrapur	0	0	0	0	0	0	0
21	Nagpur Rural	0	0	0	0	0	0	0
22	Wardha	0	0	0	0	0	0	0
*	**Nagpur Range**	**0**	**0**	**0**	**0**	**0**	**0**	**0**
23	Gadchiroli	0	0	0	0	0	0	0
24	Gondia	0	0	0	0	0	0	0
*	**Gadchiroli Range**	**0**	**0**	**0**	**0**	**0**	**0**	**0**
25	Ahmednagar	0	0	0	0	0	0	0
26	Dhule	0	0	0	0	0	0	0
27	Jalgaon	0	0	0	0	0	0	0
28	Nasik Rural	0	0	0	0	0	0	0
29	Nandurbar	0	0	0	0	0	0	0
*	**Nasik Range**	**0**	**0**	**0**	**0**	**0**	**0**	**0**
30	Raigad	0	0	0	0	0	0	0
31	Ratnagiri	0	0	0	0	0	0	0
32	Sindhudurg	0	0	0	0	0	0	0
33	Thane Rural	0	0	0	0	0	0	0
34	Palghar	0	0	0	0	0	0	0
*	**Thane Range**	**0**	**0**	**0**	**0**	**0**	**0**	**0**
35	Mumbai Railway	0	0	0	0	0	0	9
36	Pune Railway	0	0	0	0	0	0	0
37	Nagpur Railway	0	0	0	0	0	0	0
*	**Railway Range**	**0**	**0**	**0**	**0**	**0**	**0**	**9**
38	Nagpur Commr.	0	0	0	0	0	0	0
39	Pune Commr.	0	0	0	0	0	0	2
40	Thane Commr.	0	0	0	0	0	0	0
41	Mumbai Commr.	0	0	0	0	0	0	1
42	Nasik Commr.	0	0	0	0	0	0	0
43	Aurangabad Commr.	0	0	0	0	0	0	0
44	Solapur Commr.	0	0	0	0	0	0	0
45	Navi Mumbai	0	0	0	0	0	0	0
46	Amravati Commr.	0	0	0	0	0	0	0
*	**Total Commrs.**	**0**	**0**	**0**	**0**	**0**	**0**	**3**
*	**Total of M.S**	**0**	**0**	**0**	**0**	**0**	**0**	**12**

तक्ता क्र. १११ (चालू)

Table 111 (Continued)

Sr. No.	Unit	Other then Foreigners Tourists				
		Forgery (Section 465, 468 & 471 IPC)	Importation of Girls from Foreign Country	Disclosure of Identity of Victims (Section 228 A IPC)	Human Trafficking (U/S 370 & 370A IPC)	Other IPC
1	2	42	43	44	45	46
1	Akola	0	0	0	0	0
2	Amravati Rural	0	0	0	0	0
3	Buldhana	0	0	0	0	0
4	Yavatmal	0	0	0	0	0
5	Washim	0	0	0	0	0
*	**Amravati Range**	**0**	**0**	**0**	**0**	**0**
6	Aurangabad Rural	0	0	0	0	0
7	Jalna	0	0	0	0	0
8	Beed	0	0	0	0	0
9	Osmanabad	0	0	0	0	0
*	**Aurangabad Range**	**0**	**0**	**0**	**0**	**0**
10	Nanded	0	0	0	0	0
11	Latur	0	0	0	0	0
12	Parbhani	0	0	0	0	0
13	Hingoli	0	0	0	0	0
*	**Nanded Range**	**0**	**0**	**0**	**0**	**0**
14	Kolhapur	0	0	0	0	0
15	Pune Rural	0	0	0	0	0
16	Sangli	0	0	0	0	0
17	Satara	0	0	0	0	0
18	Solapur Rural	0	0	0	0	0
*	**Kolhapur Range**	**0**	**0**	**0**	**0**	**0**
19	Bhandara	0	0	0	0	0
20	Chandrapur	0	0	0	0	0
21	Nagpur Rural	0	0	0	0	0
22	Wardha	0	0	0	0	0
*	**Nagpur Range**	**0**	**0**	**0**	**0**	**0**
23	Gadchiroli	0	0	0	0	0
24	Gondia	0	0	0	0	0
*	**Gadchiroli Range**	**0**	**0**	**0**	**0**	**0**
25	Ahmednagar	0	0	0	0	0
26	Dhule	0	0	0	0	0
27	Jalgaon	0	0	0	0	0
28	Nasik Rural	0	0	0	0	0
29	Nandurbar	0	0	0	0	0
*	**Nasik Range**	**0**	**0**	**0**	**0**	**0**
30	Raigad	0	0	0	0	0
31	Ratnagiri	0	0	0	0	0
32	Sindhudurg	0	0	0	0	0
33	Thane Rural	0	0	0	0	0
34	Palghar	0	0	0	0	0
*	**Thane Range**	**0**	**0**	**0**	**0**	**0**
35	Mumbai Railway	0	0	0	0	1
36	Pune Railway	0	0	0	0	0
37	Nagpur Railway	0	0	0	0	0
*	**Railway Range**	**0**	**0**	**0**	**0**	**1**
38	Nagpur Commr.	0	0	0	0	0
39	Pune Commr.	0	0	0	0	3
40	Thane Commr.	0	0	0	0	0
41	Mumbai Commr.	0	0	0	0	0
42	Nasik Commr.	0	0	0	0	0
43	Aurangabad Commr.	0	0	0	0	0
44	Solapur Commr.	0	0	0	0	0
45	Navi Mumbai	0	0	0	0	0
46	Amravati Commr.	0	0	0	0	0
*	**Total Commrs.**	**0**	**0**	**0**	**0**	**3**
*	**Total of M.S**	**0**	**0**	**0**	**0**	**4**

तक्ता क्र. १११ (पुर्ण)

Table 111 (Concluded)

Sr. No.	UNIT	Other then Foreigners Tourists				
		Immoral Traffic (Prevention) Act, 1956	Indecent Representation of Women (Prohibition) Act, 1986	Other SLL	Sub Total (Tourist Foreigners)	Grand Total (Tourist Foreigners + Other Foreigners)
1	2	47	48	49	50	51
1	Akola	0	0	0	0	0
2	Amravati Rural	0	0	0	0	0
3	Buldhana	0	0	0	0	0
4	Yavatmal	0	0	0	0	0
5	Washim	0	0	0	0	0
*	**Amravati Range**	**0**	**0**	**0**	**0**	**0**
6	Aurangabad Rural	0	0	0	0	1
7	Jalna	0	0	0	0	0
8	Beed	0	0	0	0	0
9	Osmanabad	0	0	0	0	0
*	**Aurangabad Range**	**0**	**0**	**0**	**0**	**1**
10	Nanded	0	0	0	0	0
11	Latur	0	0	0	0	0
12	Parbhani	0	0	0	0	0
13	Hingoli	0	0	0	0	0
*	**Nanded Range**	**0**	**0**	**0**	**0**	**0**
14	Kolhapur	0	0	0	0	0
15	Pune Rural	0	0	0	0	0
16	Sangli	0	0	0	0	0
17	Satara	0	0	0	0	0
18	Solapur Rural	0	0	0	0	0
*	**Kolhapur Range**	**0**	**0**	**0**	**0**	**0**
19	Bhandara	0	0	0	0	0
20	Chandrapur	0	0	0	0	0
21	Nagpur Rural	0	0	0	0	0
22	Wardha	0	0	0	0	0
*	**Nagpur Range**	**0**	**0**	**0**	**0**	**0**
23	Gadchiroli	0	0	0	0	0
24	Gondia	0	0	0	0	0
*	**Gadchiroli Range**	**0**	**0**	**0**	**0**	**0**
25	Ahmednagar	0	0	0	0	0
26	Dhule	0	0	0	0	0
27	Jalgaon	0	0	0	0	0
28	Nasik Rural	0	0	0	0	0
29	Nandurbar	0	0	0	0	0
*	**Nasik Range**	**0**	**0**	**0**	**0**	**0**
30	Raigad	0	0	0	0	0
31	Ratnagiri	0	0	0	0	0
32	Sindhudurg	0	0	0	0	0
33	Thane Rural	0	0	0	0	0
34	Palghar	0	0	0	0	0
*	**Thane Range**	**0**	**0**	**0**	**0**	**0**
35	Mumbai Railway	0	0	0	11	11
36	Pune Railway	0	0	0	0	0
37	Nagpur Railway	0	0	0	0	2
*	**Railway Range**	**0**	**0**	**0**	**11**	**13**
38	Nagpur Commr.	0	0	0	0	0
39	Pune Commr.	0	0	0	5	5
40	Thane Commr.	0	0	0	0	0
41	Mumbai Commr.	0	0	0	1	33
42	Nasik Commr.	0	0	0	0	1
43	Aurangabad Commr.	0	0	0	0	0
44	Solapur Commr.	0	0	0	0	0
45	Navi Mumbai	0	0	0	0	0
46	Amravati Commr.	0	0	0	0	0
*	**Total Commrs.**	**0**	**0**	**0**	**6**	**39**
*	**Total of M.S**	**0**	**0**	**0**	**17**	**53**